```
[ OFP ]
-----------------------------------------------------------------------
FIN1010   29MAR2026    EBBR-EHAM   A333 N339SB  RELEASE 1416 29MAR26
OFP 1         BRUSSELS NATL-SCHIPHOL
                                   WX PROG 2915 2918   OBS 2906 2906

  ATC C/S   FIN1010      EBBR/BRU   EHAM/AMS      CRZ SYS      CI 95
29MAR2026   N339SB       1450/1510  1543/1551     GND DIST       134
A330-300 / TRENT 772                STA  1545     AIR DIST       149
                         CTOT:....                G/C DIST        85
                                                  AVG WIND   315/039
MAXIMUM    TOW 233000  LAW 187000  ZFW 175000     AVG W/C       M026
ESTIMATED  TOW 168321  LAW 165171  ZFW 159749     AVG ISA       P000
                                                  AVG FF KGS/HR 5645
                                                  FUEL BIAS    P00.0
ALTN EHEH                                         TKOF ALTN  .......
FL STEPS EBBR/0160/
-----------------------------------------------------------------------
DISP RMKS   NIL

-----------------------------------------------------------------------
         PLANNED FUEL
----------------------------------
FUEL           ARPT   FUEL   TIME
----------------------------------
TRIP            AMS   3150   0033
CONT 15 MIN           1411   0015
ALTN            EIN   1840   0022
FINRES                2171   0030
----------------------------------
MINIMUM T/OFF FUEL    8572   0141
----------------------------------
EXTRA                    0   0000
----------------------------------
T/OFF FUEL            8572   0141
TAXI            BRU    544   0020
----------------------------------
BLOCK FUEL      BRU   9116
PIC EXTRA            .....
TOTAL FUEL           .....
REASON FOR PIC EXTRA ............
-----------------------------------------------------------------------
FMC INFO:
FINRES+ALTN           4011
TRIP+TAXI             3694
-----------------------------------------------------------------------
NO TANKERING RECOMMENDED (P)
-----------------------------------------------------------------------
I HEREWITH CONFIRM THAT I HAVE PERFORMED A THOROUGH SELF BRIEFING
ABOUT THE DESTINATION AND ALTERNATE AIRPORTS OF THIS FLIGHT
INCLUDING THE APPLICABLE INSTRUMENT APPROACH PROCEDURES, AIRPORT
FACILITIES, NOTAMS AND ALL OTHER RELEVANT PARTICULAR INFORMATION.

DISPATCHER: CAMILLE JUSTICE             PIC NAME: GM, PAYAM

TEL: +1 800 555 0199               PIC SIGNATURE: ...............
```

```
ALTERNATE ROUTE TO:                                        FINRES   2171
APT      TRK DST              VIA                   FL  WC  TIME  FUEL
-----------------------------------------------------------------------
EHEH/21  156  74  LOPIK2P LOPIK LOPIK2E           070 P006 0022  1840
-----------------------------------------------------------------------

MEL/CDL ITEMS DESCRIPTION
------------- -----------

-----------------------------------------------------------------------

ROUTING:

ROUTE ID: DEFRTE
EBBR/25R HELEN4G HELEN HELEN2A EHAM/27

-----------------------------------------------------------------------
DEPARTURE ATC CLEARANCE:
.
.
.
-----------------------------------------------------------------------
                         OPERATIONAL IMPACTS
                         -------------------
WEIGHT CHANGE UP 1.0          TRIP  P 0013 KGS   TIME M 0000
WEIGHT CHANGE DN 1.0          TRIP  M 0014 KGS   TIME P 0000
FL CHANGE     UP FL1                 NOT AVAILABLE
FL CHANGE     DN FL1          TRIP  P 0031 KGS   TIME P 0000
FL CHANGE     DN FL2          TRIP  P 0057 KGS   TIME P 0000
SPD CHANGE    CI 0            TRIP  M 0049 KGS   TIME P 0002
SPD CHANGE    CI 300          TRIP  P 0023 KGS   TIME M 0000
-----------------------------------------------------------------------
```

```
-----------------------------------------------------------------------
ATIS:
.
.
--------- --------- --------- --------- --------- --------- --------
RVSM: ALT SYS  LEFT:             STBY:             RIGHT:

--------- --------- --------- --------- --------- --------- --------
-----------------------------------------------------------------------
                                TIMES
                                -----

               ESTIMATED        SKED              ACTUAL

OUT            1450Z/1650L      1450Z/1650L       ......Z

OFF            1510Z/1710L      1510Z/1710L       ......Z

ON             1543Z/1743L      1537Z/1737L       ......Z

IN             1551Z/1751L      1545Z/1745L       ......Z

BLOCK TIME     0101             0055              ......

-----------------------------------------------------------------------
                               WEIGHTS
                               -------

                EST      MAX     ACTUAL

PAX             311              ......

BAG/CARGO       7.8              ......

PAYLOAD        32.4              ......

ZFW           159.7    175.0     ......

FUEL            9.1     30.9     ......  POSS EXTRA 21.8

TOW           168.3    190.2  LDG......

STAB TRIM                        ......

LAW           165.2    187.0     ......

-----------------------------------------------------------------------
                       TERRAIN CLEARANCE CHECK
                       -----------------------
DD CHECK - TERRAIN CLEARANCE CHECK DISABLED

DP CHECK - TERRAIN CLEARANCE CHECK DISABLED
-----------------------------------------------------------------------
```

FLIGHT LOG

MOST CRITICAL MORA 02300 FEET AT EBBR///MXSHR 04 AT TOC

AWY POSITION IDENT FREQ	LAT LONG	EET TTLT	ETO ATO	FL MORA DIS	IMT ITT RDIS	MN TAS GS	WIND COMP SHR	OAT TDV TRP	EFOB AFOB	PBRN ABRN
					298				8.6	0.5
BRUSSELS NA	N5054.1		...	23	299		M030			
EBBR	E00429.1	0000	...		134	337			....	....
HELEN4G				132	313	.58	317/031	M12	7.2	1.9
BR255	N5058.2	0005	...	23	315		M030	M01		
BR255	E00417.4	0005	...	16	118	337		359	....	....
HELEN4G				160	314	.61	329/041	M16	7.0	2.1
T O C	N5102.5	0001	...	21	315	385	M040	P01		
	E00410.7	0006	...	6	112	345	4	359	....	....
HELEN4G				160	357	.62	328/041	M16	6.7	2.4
HELEN	N5114.1	0002	...	20	359	388	M040	P01		
HELEN	E00352.2	0008	...	16	96	348	4	359	....	....
AMSTERDAM FIR										
-EHAA	N5113.0	0000	...							
	E00352.2	0008	...	1	95					
HELEN2A				160	039	.62	309/042	M17	6.2	2.9
HAMZA	N5143.4	0005	...	20	041	387	M028	P00		
HAMZA	E00351.5	0013	...	28	67	359	4	356	....	....
HELEN2A				160	041	.62	308/043	M17	6.0	3.1
T O D	N5153.8	0002	...	20	041	384	P000	P00		
	E00406.6	0015	...	14	53	384	4	356	....	....
HELEN2A				155	042	.60	306/041	M17	6.0	3.1
RIVER	N5154.8	0001	...	21	044		P001	M01		
RIVER	E00408.0	0016	...	1	52	381		356	....	....
HELEN2A									5.4	3.7
SCHIPHOL	N5218.5	0017	...							
EHAM	E00445.9	0033	...	52					....	....

WIND INFORMATION

CLIMB	T O C	HELEN	HAMZA
350 335/107 -56	200 327/051 -25	200 327/051 -25	200 317/060 -25
310 334/112 -49	180 326/046 -20	180 326/046 -20	180 311/049 -21
200 327/051 -25	160 328/041 -16	160 328/041 -16	160 308/043 -17
150 324/036 -14	140 319/032 -13	140 318/032 -13	140 297/036 -14
100 306/029 -09	120 313/032 -10	120 313/032 -10	120 293/035 -11

T O D	DESCENT
200 317/060 -25	350 326/109 -56
180 311/049 -21	310 324/116 -49
160 308/043 -17	200 317/060 -25
140 297/036 -14	150 303/039 -16
120 293/035 -11	100 291/032 -09

[ATC Flight Plan]

```
---------------------------------------------------------------------
                           ICAO FLIGHT PLAN
                           ----------------

FF EBBUZQZX EHAAZQZX
291416 CYULSBFP
(FPL-FIN1010-VS
-A333/H-SDE3GHIJ2J3J5M1RVWXY/LB2D1
-EBBR1450
-N0388F160 HELEN4G HELEN HELEN2A
-EHAM0023 EHEH
-PBN/A1B1C1D1O1S2 DOF/260329 REG/N339SB EET/EHAA0008 OPR/FIN PER/C
 RMK/TCAS)
```

[Additional Info]

D I S P A T C H B R I E F I N G I N F O AY1010 EBBR/EHAM

[Runway Analysis]

```
-----------------------------------------------------------------------

TAKEOFF AND LANDING REPORT FIN 1010 EBBR-EHAM 29MAR26
TLR-1 SEQ-167772040 29MAR26 1416Z
A/C N339SB  A330-300 TRENT 772  BEW/CG 127303/.....

/// TAKEOFF DATA ///

APT   PRWY  POAT PWIND  PQNH  PMRTW FLP MT V1 VR V2 PTOW MFPTW LIMIT
EBBR  25R   10.0 248M12 1028  2330  1   54 27 27 38 1683 1902  AFM

RMKS FLEX - SEL TEMP 54
     BLEEDS ON

---- ---- ------ ----- ------- --- --- --- --- --- -----------------
RWY  OAT  WIND   QNH   MRTW    FLP V1  VR  V2  PWR CONFIG/CONDITION

---------------------------- ACARS RUNWAYS --------------------------
RWY          ACARS  LENGTH PMTOW NOTES
01                   9800  2330 ILS 109.90
07L                 11936  2330
07R                  9491  2189
19                   9800  2330 ILS 111.15
25L                 10531  2330 ILS 110.35
25R                 11936  2330 ILS 108.90

-------------------- DRY RWY - PTOW - CALM WIND --------------------
RWY          MTOW MT CONFIG                   FLP  V1  VR  V2  LIMIT
01           2330 54 FLEX - BLEEDS ON           1 127 127 138  AFM
07L          2330 54 FLEX - BLEEDS ON           1 127 127 138  AFM
07R          2330 54 FLEX - BLEEDS ON           1 127 127 138  AFM
19           2330 54 FLEX - BLEEDS ON           1 127 127 138  AFM
25L          2330 54 FLEX - BLEEDS ON           1 127 127 138  AFM
25R          2330 54 FLEX - BLEEDS ON           1 127 127 138  AFM

--------------- DRY RWY - PTOW PLUS 4000 - CALM WIND ---------------
RWY          MTOW MT CONFIG                   FLP  V1  VR  V2  LIMIT
01           2330 54 FLEX - BLEEDS ON           1 128 128 138  AFM
07L          2330 54 FLEX - BLEEDS ON           1 128 128 138  AFM
07R          2330 54 FLEX - BLEEDS ON           1 128 128 138  AFM
19           2330 54 FLEX - BLEEDS ON           1 128 128 138  AFM
25L          2330 54 FLEX - BLEEDS ON           1 128 128 138  AFM
25R          2330 54 FLEX - BLEEDS ON           1 128 128 138  AFM

------------- WET RWY - PTOW - CALM WIND - ENG A/I ON --------------
RWY          MTOW MT CONFIG                   FLP  V1  VR  V2  LIMIT
01           2330 54 FLEX - BLEEDS ON           1 127 127 138  AFM
07L          2330 54 FLEX - BLEEDS ON           1 127 127 138  AFM
07R          2330 54 FLEX - BLEEDS ON           1 127 127 138  AFM
19           2330 54 FLEX - BLEEDS ON           1 127 127 138  AFM
25L          2330 54 FLEX - BLEEDS ON           1 127 127 138  AFM
25R          2330 54 FLEX - BLEEDS ON           1 127 127 138  AFM
```

```
-------- WET RWY - PTOW PLUS 4000 - CALM WIND - ENG A/I ON ---------
RWY          MTOW MT CONFIG                    FLP  V1  VR  V2  LIMIT
01           2330 54 FLEX - BLEEDS ON            1 128 128 138  AFM
07L          2330 54 FLEX - BLEEDS ON            1 128 128 138  AFM
07R          2330 54 FLEX - BLEEDS ON            1 128 128 138  AFM
19           2330 54 FLEX - BLEEDS ON            1 128 128 138  AFM
25L          2330 54 FLEX - BLEEDS ON            1 128 128 138  AFM
25R          2330 54 FLEX - BLEEDS ON            1 128 128 138  AFM

/// LANDING DATA ///

APT   PRWY  POAT PWIND  PQNH  PMRLW FLP  PLDW  LIMIT
EHAM  27    9.0  238M15 1025  1870  FULL 1652  AFM

RMKS NONE

-------- ---- ------ ----- ------- --- ----- --- -------------------
RWY      OAT  WIND   QNH   MRLW    FLP VREF  PWR CONFIG/CONDITION

---------------------------- ACARS RUNWAYS --------------------------
RWY          ACARS  LENGTH PMRLW NOTES
04                   6627  1870
06                  10482  1870 ILS 110.55
09                  11034  1870
18C                 10827  1870 ILS 109.50
18L                 11155  1870
18R                 11581  1870 ILS 110.10
22                   6627  1870 ILS 109.15
24                  11283  1870
27                  11329  1870 ILS 111.55
36C                  9350  1870 ILS 108.75
36L                 12467  1870
36R                  9268  1870 ILS 111.95

------------- FLAPS FULL - PACKS ON - NO ENROUTE ICING -------------
DRY RWY / WET RWY
            04             06             09             18C
  OAT       6627 FT        10482 FT       11034 FT       10827 FT
   04       1870A/1870A    1870A/1870A    1870A/1870A    1870A/1870A
 / 09       1870A/1870A    1870A/1870A    1870A/1870A    1870A/1870A
   14       1870A/1870A    1870A/1870A    1870A/1870A    1870A/1870A
HW/10KT         0/    0        0/    0        0/    0        0/    0
TW/10KT         0/ -140        0/    0        0/    0        0/    0

            18L            18R            22             24
  OAT       11155 FT       11581 FT       6627 FT        11283 FT
   04       1870A/1870A    1870A/1870A    1870A/1870A    1870A/1870A
 / 09       1870A/1870A    1870A/1870A    1870A/1870A    1870A/1870A
   14       1870A/1870A    1870A/1870A    1870A/1870A    1870A/1870A
HW/10KT         0/    0        0/    0        0/    0        0/    0
TW/10KT         0/    0        0/    0        0/ -139        0/    0
```

```
            27              36C             36L             36R
  OAT       11329 FT        9350 FT         12467 FT        9268 FT
   04       1870A/1870A     1870A/1870A     1870A/1870A     1870A/1870A
 / 09       1870A/1870A     1870A/1870A     1870A/1870A     1870A/1870A
   14       1870A/1870A     1870A/1870A     1870A/1870A     1870A/1870A
HW/10KT         0/    0         0/    0         0/    0         0/    0
TW/10KT         0/    0         0/    0         0/    0         0/    0

-------- LANDING DISTANCE - FLAPS FULL - MAX MANUAL BRAKING --------
                    ACTUAL              FACTORED
  LDW     VREF      DRY       WET       DRY       WET
  1620    127      3226      4071      4282      5255
  1640    128      3252      4104      4323      5303
/ 1660    128      3278      4137      4364      5352
  1680    129      3304      4170      4405      5401
  1700    130      3331      4204      4447      5451
HW/KT               -20       -24       -22       -29
TW/KT                59        75        88       106

END TAKEOFF AND LANDING REPORT FIN 1010 EBBR-EHAM 29MAR26
```

[Airport WX List]

```
-----------------------------------------------------------------------
EBBR --> EHAM    AY  1010 / 29MAR2026
LIDO/WEATHER SERVICE       DATE : 29Mar2026   TIME : 14:16 UTC

AIRMETs:
  No Wx data available

SIGMETs:
  No Wx data available

Tropical Cyclone SIGMETs:
  No Wx data available

Volcanic Ash SIGMETs:
  No Wx data available

Departure:
EBBR/BRU  BRUSSELS NATL
  SA  291350  25012KT 210V280 CAVOK 10/M00 Q1028 NOSIG
  FT  291117  2912/3018 24007KT 9999 FEW040
              PROB40 TEMPO 2919/2923 RA
              TEMPO 2921/2924 23015G25KT SCT008 BKN012
              TEMPO 3000/3003 29014G30KT 3500 SHRA BKN014TCU
              BECMG 3007/3009 30012KT
              PROB30 TEMPO 3011/3018 31015G25KT SHRA
              TEMPO 3014/3018 31017G30KT SHR

Destination:
EHAM/AMS  SCHIPHOL
  SA  291355  24015KT 9999 FEW027 09/01 Q1025 NOSIG
  FT  291103  2912/3018 24015KT 9999 SCT025
              BECMG 2915/2918 22019G29KT -RA
              TEMPO 2918/2921 6000 RA BKN014
              BECMG 2919/2921 25020G30KT NSW
              TEMPO 2921/2923 27025G38KT 4000 SHRA SHRAGS SCT014
              SCT018CB
              BKN022
              BECMG 2922/2924 30019G29KT
              PROB30 TEMPO 3000/3003 31022G34KT 6000 SHRA SCT022CB
              BKN030
              BECMG 3002/3005 30016KT
              TEMPO 3007/3016 31018G28KT 6000 SHRA SCT022CB BKN030
              BECMG 3014/3017 33015KT

Destination Alternates:
EHEH/EIN  EINDHOVEN
  SA  291355  AUTO 24009KT 190V280 9999 SCT045 BKN055 BKN062 10/01
              Q1026 BLU NOSIG RMK TREND REMOTE BY EHWX
  FT  291106  2912/3018 24005KT 9999 BKN045
              TEMPO 2920/2923 27012G25KT 4000 RADZ BKN012 OVC020
              TEMPO 2923/3003 30010G30KT 3500 SHRA SHRAGS SCT018CB
              TEMPO 3012/3018 32012G25KT SCT020CB


  AIRPORTLIST ENDED
```

[NOTAM]

LIDO-NOTAM-BULLETIN INCLUDES NOTAM, COMP NOTAM AND AIP-REGULATION
VALID: 2603291450 - 2603291914 STD(EOBT)+TRIP+ALTN+3HRS
FIN 1010 /29MAR OFP-NR: 1
ROUTE: EBBR - EHAM ALTN: EHEH
N0388F160 HELEN4G HELEN HELEN2A

==========
DEPARTURE AIRPORT - DETAILED INFO
==========

EBBR/BRU BRUSSELS NATL

++++++++++++++++++++++++++++ AIRPORT ++++++++++++++++++++++++++++++

A0871/26
TWY OUT-6, INT OUT-6 WITH OUT-5 RESTRICTED TO MAX ACFT TYPE CODE E. PPR 15MIN TO PREPARE FOR ACFT TYPE CODE F AND GUIDED BY COMPULSORY FOLLOW-ME CAR. FOR PPR CTC ATC
A0870/26
RWY 07L/25R TWY A6 INDICATION PANEL MISSING
A0841/26
MOV OBST UP TO 20FT AS FM 105M NORTH OF **RWY 07L/25R** AXIS ABM **ILS GP RWY 25R** EXC IN **CAT** II/III OPS. ICAO MARKING **AVBL**
A0842/26
UNSERVICEABLILITY MARKERS UP TO 3FT AND FIX OBST UP TO 13FT AS FM 105M NORTH OF **RWY 07L/25R** AXIS ABM **ILS GP RWY 25R**. ICAO DAY AND NIGHT MARKED WORKAREA
A0688/26
TRIGGER NOTAM. SUP 014/2026 WEF 23 MAR 2026. EBBR **ILS RWY 25R** UNAVAILABLE H24 DUE TO WORKS.
A0828/26
NO EDGE LIGHTS AND SIGNS **AVAILABLE** ON INT **TWY** INN-5 AND INN-6
A0810/26
MOV OBST AS FM 230M SOUTH OF **RWY 07L/25R** AXIS ABM INT **TWY** INN-5 AND INN-6. MAX 40FT AGL. ICAO DAY AND NIGHT MARKED WORK AREA
A0811/26
ADAPTED STANDARD PUSH-BACK PROCEDURE ACFT STAND 164-170: PUSH ON **TWY** INN-5, NOSE FACING WEST. FOR STAND 170 PUSH ON PUSH LINE, NO FURTHER THAN NOSE WHEEL LIMIT LINE
A0809/26
TWY M, INN-5 EAST OF ACFT STAND 172, INN-6 AND INT BTN THESE **TWY CLSD** DUE TO **WIP**
A0755/26
FIXED CRANE ERECTED 505333.64N 0043048.68E AT 2263M FM ARP (414M FM **RWY** CL) BRG 116DEG, MAX 283FT AMSL /92FT AGL. ICAO DAY AND NIGHT MARKINGS INSTALLED
D0012/26
DAILY 0800-1600
IAP RNP RWY07L LNAV/VNAV INCREASED OCA **CAT** A 456FT **CAT** B 466FT **CAT** C 475FT **CAT** D 485FT.

++++++++++++++++++++++++++++ RUNWAY ++++++++++++++++++++++++++++++

A0840/26
RWY 25R RESA REDUCED TO LEN OF 300M DUE MOV OBST UP TO MAX 13FT AGL IN FRONT OF **ILS LOC** ANTENNA. ICAO MARKING **AVBL**

++++++++++++++++++++++ APPROACH PROCEDURES ++++++++++++++++++++++++

A0669/26
RWY 25R ILS U/S DUE TO MAINT. DO NOT USE. FALSE INDICATIONS POSSIBLE. NO IDENT CODE RADIATED
D0575/25
IAP **VOR RWY 07L NOT AVBL**

==========
DESTINATION AIRPORT - DETAILED INFO
==========

EHAM/AMS SCHIPHOL

++++++++++++++++++++++++++++ AIRPORT ++++++++++++++++++++++++++++++

A0573/26
TWY A BTN **TWY A22** AND **TWY A25**, ACFT WITH WINGSPAN MORE THAN 69M GUIDED BY MARSHALLER.
A0750/26
CHANGE OF CIRCLING MINIMA OCA/H DUE TO CRANE. **CAT** A INCREASED TO 739(750).
A0723/26
REF AIP SUP 28/2025 AMSTERDAM SCHIPHOL (EHAM) CRANES EXTENDED RCL 22, TIMES CHANGED TO MON-SAT 0500-1900 (MON-SAT 0400-1800).
A0722/26
CONSTRUCTION PHASE 26.0 IN PROGRESS. REF AIP SUP 30/2025.
A0684/26
MAR 23-27 1400-0500, 28 1400-0400, 30-31 2000-0400, APR 01-03 , 2000-0400, 07 1400-0400
TWY A13 CLSD BTN AIRCRAFT STAND E08 AND AIRCRAFT STAND E18.
A0705/26
2 CRANES ERECTED AT PSN 521842.2N 0044155.8E. 3300M BEYOND TORA **RWY 27** AND 320M RIGHT OF EXTD RCL. 211FT AMSL, MARKED AND LGTD. CLOSE-IN OBST FOR IFR DEP **RWY 27**. OCA/H NOT AFFECTED.
REF AIP NETHERLANDS AERODROME EHAM **AD** 2.10.
A0694/26
AD NOT AVBL AS COMMERCIAL ALTERNATE.
A0669/26
CL LIGHTS ON **TWY A13** BTN **TWY A10** AND **TWY A12 U/S**.
MARSHALLER GUIDANCE REQUIRED IF RVR 350M OR LESS.
A0673/26
TWY A13 CLSD BTN AIRCRAFT STAND E08 AND AIRCRAFT STAND D03.
A0329/26
TRIGGER NOTAM - PERM AIRAC AIP AMDT 03/2026 WEF 19 MAR 2026: MAG VAR 2025 IMPLEMENTED.
A0646/26
ON **TWY G** BTN G3 AND G4 STRICTLY FOLLOW MARSHALLER DUE TO DAMAGED **TWY** SURFACE.
A0623/26
CHANGE OF OPERATING MINIMA OCA(OCH) **RWY 27** DUE TO CRANE.
LOC ACFT **CAT** A-DL INCREASED TO 762(772).
LNAV ACFT **CAT** A-DL INCREASED TO 631(642).
REF AIP **AD** 2.EHAM IAC RNP **RWY 27** AND **AD** 2.EHAM IAC **LOC RWY 27**.
A0621/26
CRANE ERECTED AT PSN 521837.5N 0045632.0E.
9860M BEFORE THR **RWY 27** AND 1340M LEFT OF EXTD RCL
516FT AMSL, MARKED AND LGTD.

A0588/26
CHANGE OF OPERATING MINIMA OCA(OCH) **RWY 36C** DUE TO MAINTENANCE WORKS.
ILS CAT I **CAT** A-DL INCREASED TO:
CAT A 161 (173), **CAT** B 171 (183), **CAT** C 181 (193), **CAT** D 191 (203), **CAT** DL 191 (203).
ILS CAT II **CAT** A-DL INCREASED TO:
CAT A (78), **CAT** B (88), **CAT** C (108), **CAT** D (121), **CAT** DL (121).
REF AIP **AD** 2 EHAM IAC - 29.

A0589/26
CONSTRUCTION WORK BTN **TWY** A21-A25. PSN 521829.38N 0044427.51E. TRUE BEARING FROM ARP 270DEG AND DISTANCE 1583M. 30FT AMSL, MARKED AND LGTD.

A0590/26
CONSTRUCTION WORK BTN **TWY** A21-A25. PSN 521834.77N 0044428.36E. TRUE
BEARING FROM ARP 277DEG AND DISTANCE 1576M. 23FT AMSL, MARKED AND LGTD.

A0569/26
TWY B CLSD BTN **TWY A22** AND **TWY A25**.

A0570/26
RAPID EXIT **TWY W7 CLSD**.

A0572/26
CL LIGHTS **TWY A** BTN **TWY A22** AND **TWY A24 U/S**. MARSHALLER GUIDANCE REQUIRED IF RVR 350M OR LESS.

A0555/26
INCREASED BIRD ACTIVITY ON AND AROUND **AD**. AN INCREASED POTENTIAL FOR BIRD STRIKES EXISTS FOR ALL INBD AND OUBD ACFT.

A0529/26
TURN FROM **TWY A** EASTBOUND TO **TWY A15** AND TURN FROM **TWY A15** TO **TWY** A WESTBOUND PROHIBITED FOR ACFT WITH OUTER MAIN GEAR WHEEL SPAN OF 9M OR MORE.

A0372/26
CRANE ERECTED AT PSN 522310N 0045423E. 400FT AMSL.

A0315/26
RWY DESIGNATOR MARKING ON **TWY W9** SHOULD READ 36C-18C.

A0198/26
CHANGE OF OPERATING MINIMA OCA(OCH) **RWY 18C** (LNAV) INCREASED TO 690 (701). REF AIP IAC RNP **RWY 18C**.

A0193/26
TWY A29 AND **TWY B** BTN **TWY A28** AND **TWY A29**, WINGSPAN MORE THAN 69M GUIDED BY MARSHALLER.

A3038/25
ACFT TOWED BY A YELLOW-COLOURED TOW TRUCK EQUIPPED WITH ANTI-COLLISION LIGHTS IS UNDER THE PILOTS COMMAND AND REFERRED TO BY ATC AS TAXITOW. RIGHT-OF-WAY IN ACCORDANCE WITH TAXIING ACFT IS APPLICABLE.

A3004/25
TWY A BTN **TWY A28** AND **TWY A29** ACFT WITH WINGSPAN MORE THAN 69M MUST BE GUIDED BY MARSHALLER.

A2844/25
2 CRANES ERECTED AT PSN 521747.9N 0044218.1E. TRUE BEARING FROM ARP 252 DEG AND DISTANCE 4200M. 233FT AMSL, MARKED AND LGTD, OCA/H NOT AFFECTED. REF AIP NETHERLANDS EHAM **AD** 2.10.

++++++++++++++++++++++++++++++ RUNWAY ++++++++++++++++++++++++++++++

A0545/26
RWY 24 TORA SIGN S5 **NOT AVBL**.

++++++++++++++++++++++++++++++ SID ++++++++++++++++++++++++++++++

A0413/26
RWY 06 SID ARNEM 3R SERIAL NR 002 COLUMN SPEED READ - INSTEAD OF -200. REF AIP AIRAC AMDT 03/2026 WEF 19 MAR, EHAM **AD** 2.22 PARA 1.5.5.
A0414/26
RWY 06 SID BERGI 3R SERIAL NR 001 COLUMN SPEED READ -220 INSTEAD OF -. SERIAL NR 002 COLUMN SPEED READ - INSTEAD OF -220.
REF AIP AIRAC AMDT 03/2026 WEF 19 MAR, EHAM **AD** 2.22 PARA 1.5.5.
A0415/26
RWY 06 SID RENDI 2R SERIAL NR 003 COLUMN SPEED READ - INSTEAD OF -220.
REF AIP AIRAC AMDT 03/2026 WEF 19 MAR, EHAM **AD** 2.22 PARA 1.5.5.
A0416/26
RWY 06 SID LOPIK 2R
SERIAL NR 002 COLUMN SPEED READ -220 INSTEAD OF -.
SERIAL NR 003 COLUMN SPEED READ - INSTEAD OF -220.
REF AIP AIRAC AMDT 03/2026 WEF 19 MAR, EHAM **AD** 2.22 PARA 1.5.5.
A0417/26
RWY 06 SID ANDIK 2T
SERIAL NR 001 COLUMN SPEED READ -220 INSTEAD OF -.
SERIAL NR 002 COLUMN SPEED READ - INSTEAD OF -220.
REF AIP AIRAC AMDT 03/2026 WEF 19 MAR, EHAM **AD** 2.22 PARA 1.5.6.
A0418/26
RWY 06 SID ARNEM 3T
SERIAL NR 002 COLUMN SPEED READ -220 INSTEAD OF -.
SERIAL NR 003 COLUMN SPEED READ - INSTEAD OF -220.
REF AIP AIRAC AMDT 03/2026 WEF 19 MAR, EHAM **AD** 2.22 PARA 1.5.6.
A0419/26
RWY 06 SID KUDAD 2T
SERIAL NR 003 COLUMN SPEED READ - INSTEAD OF -220.
REF AIP AIRAC AMDT 03/2026 WEF 19 MAR, EHAM **AD** 2.22 PARA 1.5.6.
A0420/26
RWY 06 SID RENDI 2T
SERIAL NR 003 COLUMN SPEED READ - INSTEAD OF -220.
REF AIP AIRAC AMDT 03/2026 WEF 19 MAR, EHAM **AD** 2.22 PARA 1.5.6.
A0421/26
RWY 09 SID BERGI 3N
SERIAL NR 003 COLUMN ALTITUDE READ +2500 INSTEAD OF -.
REF AIP AIRAC AMDT 03/2026 WEF 19 MAR, EHAM **AD** 2.22 PARA 1.5.7.
A0422/26
RWY 36L SID VOLLA 2Z
SERIAL NR 002 COLUMN PATH DESCRIPTOR READ CF INSTEAD OF TF.
REF AIP AIRAC AMDT 03/2026 WEF 19 MAR, EHAM **AD** 2.22 PARA 1.5.15.
A0425/26
RWY 18C SID BETUS 6Y, DENAG 7X, WISPA 4X
SERIAL NR 001 COLUMN WPT IDENT READ LISOH INSTEAD OF AM080.
REF AIP AIRAC AMDT 03/2026 WEF 19 MAR, EHAM **AD** 2.22 PARA 1.5.8.
A0431/26
RWY 27 SID BERGI 2P
SERIAL NR 002 COLUMN SPEED READ - INSTEAD OF -220.
REF AIP AIRAC AMDT 03/2026 WEF 19 MAR, EHAM **AD** 2.22 PARA 1.5.12.
A0432/26
RWY 18L SID KUDAD 3E
SERIAL NR 002 COLUMN WPT IDENT READ OKUDO INSTEAD OF AM073.
REF AIP AIRAC AMDT 03/2026 WEF 19 MAR, EHAM **AD** 2.22 PARA 1.5.9.

A0433/26
RWY 18L SID LOPIK 5E
SERIAL NR 002 COLUMN WPT IDENT READ OGOSU INSTEAD OF AM029.
REF AIP AIRAC AMDT 03/2026 WEF 19 MAR, EHAM **AD** 2.22 PARA 1.5.9.
A0434/26
RWY 24 SID ANDIK 2S (ANDI2S AND AND2SY), KUDAD 3S (KUD3SY), LOPIK 3S (LOP3SY), RENDI 2S (REND2S AND REN2SY) AND SPY 4K (SPY4K)
SERIAL NR 001 COLUMN ALTITUDE READ - INSTEAD OF +500.
REF AIP AIRAC AMDT 03/2026 WEF 19 MAR, EHAM **AD** 2.22 PARA 1.5.11.
A0438/26
RWY 36L SID RENDI 2Z.
RENUMBER SERIAL NR 007 TO SERIAL NR 008 AND CHANGE COLUMN DISTANCE TO READ 7.9 INSTEAD OF 12.9.
INSERT A NEW SERIAL NR 007 WITH FOLLOWING COLUMN DATA:
PATH DESCRIPTOR READ TF, WPT IDENT READ RENDI, COURSE/TRACK MAG/(T) READ 123/(125.4), DISTANCE READ 5.0.
OTHER COLUMNS ARE EQUAL TO OTHER SERIAL NRS.
REF AIP AIRAC AMDT 03/2026 WEF 19 MAR, EHAM **AD** 2.22 PARA 1.5.15.
A0439/26
RWY 18L SID ARNEM 5E, RENDI 3E.
SERIAL NR 001 COLUMN WPT IDENT READ OTNES INSTEAD OF AM037.
REF AIP AIRAC AMDT 03/2026 WEF 19 MAR, EHAM **AD** 2.22 PARA 1.5.9.
A0448/26
RWY 36L SID LOPIK 4V, ARINC DESIGNATOR READ LOPI4V INSTEAD OF LOPI5V.
A0511/26
RWY 18L SID ANDIK 4E.
SERIAL NR 001 COLUMN WPT IDENT READ OTNES INSTEAD OF AM037.
RENUMBER SERIAL NR 002 TO SERIAL NR 003 AND CHANGE COLUMN DISTANCE TO READ 4.8 INSTEAD OF 7.6 AND CHANGE COLUMN SPEED TO READ - INSTEAD OF -220.
INSERT A NEW SERIAL NR 002 WITH FOLLOWING COLUMN DATA:
PATH DESCRIPTOR READ TF, WPT IDENT READ AM047, COURSE/TRACK MAG/(T) READ 090/(092.0), DISTANCE READ 2.8, SPEED READ -220.
OTHER COLUMNS ARE EQUAL TO OTHER SERIAL NRS. RENUMBER ALL SUBSEQUENT SERIAL NRS IN ORDER.
REF AIP AIRAC AMDT 03/2026 WEF 19 MAR, EHAM **AD** 2.22 PARA 1.5.9.

++++++++++++++++++++++ APPROACH PROCEDURES ++++++++++++++++++++++

A0320/26
ILS RWY 36C DOWNGRADED TO III/E/3 (SUPPORTS **CAT** III OPERATIONS).
A0197/26
RWY 04 RNP APPROACH MOCA ON INTERMEDIATE SEGMENT FROM NELFE TO AM204 INCREASED TO 1100FT AMSL DUE TO WINDMILLS IN FINAL APPROACH AREA. REF AIP IAC RNP **RWY 04**.

==========
DESTINATION ALTERNATE AIRPORT(S)
==========

EHEH/EIN EINDHOVEN

++++++++++++++++++++++++++++ AIRPORT ++++++++++++++++++++++++++++++

A0727/26
CHANGE OF OPERATING MINIMA OCA(OCH) RNP Y **RWY 21** DUE TO CRANE.
LNAV ACFT **CAT** A-D INCREASED TO 520(453).
LNAV/VNAV **CAT** A-D INCREASED TO:
CAT A 401(334), **CAT** B 413(346),
CAT C 421(354), **CAT** D 432(365)
REF AIP **AD** 2.EHEH 2.24 IAC CDO APPROACHES RNP Y **RWY 21**.
A0574/26
ADS-B DATA FOR ECRA (EUROPEAN CONNECTED REGIONAL AIRPORTS PROGRAMME) OPERATIONS. 1.1.IN ORDER TO COOPERATE WITH ADS-B RECEIVER USED BY AIRPORT OPERATOR AND EUROCONTROL FOR USE OF THE ECRA PROGRAMME AT EINDHOVEN AIRPORT,PILOTS OF MODE S EQUIPPED ACFT WITH ADS-B FUNCTIONALITIES WHEN OPERATING ON THE GROUND SHALL: A)SELECT AUTO MODE AND THE ASSIGNED MODE A CODE OR B)IF AUTOMODE IS **NOT AVAILABLE**, SELECT ON (E.G.XPDR) AND THE ASSIGNED MODE A CODE. -FROM THE REQUEST FOR TOWER PUSH-BACK OR TAXI,WHICHEVER IS EARLIER -AFTER LANDING,CONTINUOUSLY UNTIL THE ACFT IS FULLY PARKED IN ITS STAND. -WHEN THE ACFT IS FULLY PARKED, FLT CREW SHALL SELECT STBY. 1.1.2.WHENEVER THE ACFT IS CAPABLE OF REPORTING ACFT IDENTIFICATION (I.E.CALLSIGN USED IN FLT), THIS SHOULD BE ENTERED (THROUGH THE FMS OR THE TRANSPONDER CONTROL PANEL) AT THE TIME OF THE REQUEST FOR TOWED PUSH-BACK OR TAXI, WHICHEVER IS EARLIER. 1.1.3.AIR CREW MUST USE THE ICAO DEFINED FORMAT TO ENTER THE ACFT IDENTIFICATION. 1.1.4.TO ENSURE THAT THE PERFORMANCE OF SYSTEMS BASED ON SSR FREQ (INCLUDING AIRBORNE TCAS AND SSR RADARS) IS NOT COMPROMISED, TCAS SHOULD NOT BE SELECTED BEFORE RECEIVING CLEARANCE TO LINE UP, AND SHOULD BE DESELECTED AFTER VACATING THE **RWY**.

++++++++++++++++++++++++++++ SID ++++++++++++++++++++++++++++++

A0200/26
RWY 21 TULIP 2S SID, REMOVE SPEED RESTRICTION 210KT AT EH556.
REF AIRAC AMDT 02/2026 EFF 19 FEB 2026 PARA 1.4.5.
A0390/26
RWY 21 SID OSGOS 4K PATH DESCRIPTOR, SERIAL NR 002 READ CF INSTEAD OF TF. REF AIP AIRAC AMDT 02/2026 WEF 19 FEB 2026,
EHEH **AD** 2.22 PARA 1.4.5.
A0392/26
RWY 03 SID LNO 5J WPT IDENT, SERIAL NR 007 READ LNO INSTEAD OF OLNO.
REF AIP AIRAC AMDT 02/2026 WEF 19 FEB 2026, EHEH **AD** 2.22 PARA 1.4.4.
A0393/26
RWY 21 SID LNO 6K WPT IDENT, SERIAL NR 007 READ LNO INSTEAD OF OLNO.
REF AIP AIRAC AMDT 02/2026 WEF 19 FEB 2026, EHEH **AD** 2.22 PARA 1.4.5.

==========
EXTENDED AREA AROUND DEPARTURE
==========

EBBU BRUSSELS FIR

++++++++++++++++++++++++++++ FIR/UIR ++++++++++++++++++++++++++++++

F0904/26
FRASNES WIND TURBINE 503923N 0033911E 150M AGL, OBST LGT **U/S**
F0859/26
ZEEBRUGGE WIND TURBINE 511843N 0031112E 145M AGL/476FT AMSL, OBST LGT **U/S**

++++++++++++++++++++++ RESTRICTED AIRSPACE ++++++++++++++++++++++++

F0894/26
0800-1400 1700-1900
TSA28D-ELSENBORN 05 ACT
F) GND G) 4500FT AMSL
F0700/26
11 13 17 19 23 25 27 0700-1500, 31 0600-1400
TSA36-FLAWINNE ACT, BEYOND VISUAL LINE OF SIGHT
F) GND G) 500FT AGL
F0008/26
EVERY MON-FRI H24
EBR67 NIVELLES ACT
F) GND G) 400FT AGL

++++++++++++++++++++++++++++++ ROUTE ++++++++++++++++++++++++++++++

D0148/26
MINIMUM RADAR VECTORING ALTITUDE RAISED TO 4000FT AMSL PSN 494841N 0055052E RADIUS 3NM WITHIN LUXEMBOURG TMA ONE A. REF ELLX **AD** 2.24 **AD** 2.ELLX-ATCSMAC.01

==========
EXTENDED AREA AROUND DESTINATION
==========

EHAA AMSTERDAM FIR

++++++++++++++++++++++++++++ FIR/UIR ++++++++++++++++++++++++++++++

B0435/26
SEVERAL OBSTACLE LIGHTS **U/S** AT OFFSHORE WINDPARK EGMOND AAN ZEE, PSN 5236N 00424E. 378FT AMSL. REF AIP ENR 5.4 (ID 206).
B0416/26
SEVERAL OBSTACLE LIGHTS **U/S** AT WINDPARK NOORDZEE GEMINI OOST. PSN 5402N 00602E, 509FT AMSL. REF AIP ENR 5.4 (ID 482).
B0402/26
NIGHT OBST LIGHTING OF MOST WIND TURBINES AT WINDFARM GT 1 **U/S**. REF AIP NETHERLANDS ENR 5.4 ID 419.
B0400/26
SEVERAL OBSTACLE LIGHTS **U/S** AT NOORDZEE WINDPARK BORKUM RIFFGRUND 2, PSN 5357N 00628E RADIUS 3NM. ELEV 649FT AMSL.
REF AIP THE NETHERLANDS ENR 5.4 ID 518.

B0396/26
SEVERAL OBSTACLE LIGHTS **U/S** AT WINDPARK NOORDOOSTPOLDER, BTN LEMMER AND URK ALONG THE COASTLINE.
REF AIP ENR 5.4 (ID 455 AND 457).

A0331/26
TRIGGER NOTAM - PERM AIRAC AIP AMDT 03/2026 WEF 19 MAR 2026: FRA RELEVANCE GODOS, LONAM, RENEQ AND TOPPA AMENDED.

B0391/26
SEVERAL OBSTACLE LIGHTS **U/S** AT WINDPARK PRINSES AMALIA, PSN 523434.2N 0041302.5E, 331FT AMSL, REF AIP ENR 5.4 (ID317).

B0313/26
SEVERAL OBSTACLE LGTS **U/S** AT NOORDZEE TRIANEL WINDPARK BORKUM, PSN 5403N 00624E, RADIUS 5NM. ELEV 584FT AMSL.
REF AIP THE NETHERLANDS ENR 5.4 ID 420.

B0306/26
SEVERAL OBSTACLE LIGHTS **U/S** AT WINDPARK VEJA MATE. PSN 5420N 00553E, 590FT AMSL.
REF AIP ENR 5.4 (ID 498).

A0559/26
ADVANCE NOTICE: AIP AMDT 03/2026, EFF 19 MAR 2026, CONTAINS ERRONEOUS SID CODING DATA. SID-SPECIFIC CORRECTIONS AND ASSOCIATED CONSTRAINTS ARE PUBLISHED IN INDIVIDUAL NOTAM. NAVIGATION DATABASE CORRECTIONS ARE IN PROGRESS. IN CASE OF DISCREPANCIES BETWEEN THE PUBLISHED CHART AND THE FMS, THE CONSTRAINTS PUBLISHED IN THE APPLICABLE NOTAM SHALL BE APPLIED.
REF AIP AIRAC 03/2026 WEF 19 MAR, EHAM **AD** 2.22, EHBK **AD** 2.22, EHEH **AD** 2.22, EHGG **AD** 2.22, EHKD **AD** 2.22, EHRD **AD** 2.22.

B0253/26
OBST LIGHTS WIND FARM BARD OFFSHORE 1 PARTLY **U/S**.
ELEVATION 492FT AMSL. REF AIP THE NETHERLANDS ENR 5.4 ID 333.

B0220/26
OBST LIGHTS **U/S** ONE WINDTURBINE NIEUWLEUSEN, PSN 523414N 0061354E, 666FT AGL. REF AIP ENR 5.4, ID 625.

B0193/26
LIMITED SURVEILLANCE COVERAGE OVER THE NORTH SEA BELOW FL055.

B0158/26
NEW NORTH SEA HELIDECK EHHR, BORWIN 4 (PLATFORM) INCLUDING HTZ. PSN 541750N 0060130E. REF AIP NETHERLANDS GEN 2.4, ENR 2.2.

B0157/26
NEW NORTH SEA HELIDECK EHHG, BORWIN EPSILON (PLATFORM) INCLUDING HTZ. PSN 542204N 0061115E. REF AIP NETHERLANDS GEN 2.4, ENR 2.2.

B0156/26
NEW NORTH SEA HELIDECK EHNF, N07-FA-1(PLATFORM) INCLUDING HTZ. PSN 533050N 0060100E. REF AIP NETHERLANDS GEN 2.4, ENR 2.2.

B0154/26
NEW NORTH SEA HELIDECK EHHU, DOLWIN EPSILON (PLATFORM) INCLUDING HTZ. PSN 540405N 0061021E. REF AIP NETHERLANDS GEN 2.4, ENR 2.2.

B0153/26
NEW NORTH SEA HELIDECK EHHP, BORWIN KAPPA (PLATFORM) INCLUDING HTZ. PSN 541737N 0061312E. REF AIP NETHERLANDS GEN 2.4, ENR 2.2.

B0125/26
SEVERAL OBSTACLE LIGHTS **U/S** AT WINDPARK NOORDZEE HOLLANDSE KUST ZUID. 738 AMSL. REF AIP ENR 5.4 (ID 595).

B0118/26
GLOBAL TECH 1 (EHHI) RADIO OPERATOR FREQ CHANGED TO 151.110.

A0130/26
AMSTERDAM INFORMATION 124.300MHZ, EXPECT LIMITED RADIO COVERAGE BELOW 1500FT BETWEEN EHRD CTR AND EHSE.

B0005/26
SEVERAL OBST LIGHTS NOORDZEE RIFFGAT **U/S**. 487FT AMSL.
REF AIP NETHERLANDS ENR 5.4 ID 415.

++++++++++++++++++++++ RESTRICTED AIRSPACE ++++++++++++++++++++++++

B0441/26
FLARING OPERATIONS AT NOBLE RESOLUTE (L10M), PSN 532421N 0040127E.
F) SFC G) 1000FT AMSL

==========
EXTENDED AREA AROUND DESTINATION ALTERNATE AIRPORT(S)
==========

EHAA AMSTERDAM FIR

Please see section EXTENDED AREA AROUND DESTINATION

==========
AREA ENROUTE DEPARTURE - DESTINATION
==========

EHAA AMSTERDAM FIR

Please see section EXTENDED AREA AROUND DESTINATION

[Company NOTAM]

==========
CREW ALERT
==========

SB007/14
SUBJECT: AUTO COST INDEXES
WHEN PLANNING A COST INDEX, 2 OPTIONS ARE AVAILABLE. PILOTS MAY EITHER SELECT A SPECIFIC COST INDEX NUMBER FROM THE LIST, OR THEY MAY SELECT "AUTO". WHEN PLANNING AN "AUTO" COST INDEX, THE SYSTEM WILL REFERENCE THE SCHEDULED "TIME ENROUTE" OPTION AND ATTEMPT TO CHOOSE A COST INDEX WHICH CLOSELY MATCHES THIS VALUE. NOTE THAT THE "TIME ENROUTE" OPTION IS MEANT AS A GATE TO GATE TIME (AS INDICATED ON AN AIRLINE'S FLIGHT SCHEDULE, FOR EXAMPLE). IF A "TIME ENROUTE" OF 2:30 IS SELECTED, THE SYSTEM WILL SUBTRACT THE TAXI TIMES FROM THIS VALUE TO DETERMINE THE SCHEDULED AIR TIME. IT WILL THEN DETERMINE AND USE THE COST INDEX WHICH MATCHES THIS AIR TIME.

SB003/13
SUBJECT: FLIGHT RELEASE UNITS
ALL FLIGHT CREW: PLEASE PAY SPECIAL ATTENTION TO THE UNITS SELECTION WHEN GENERATING A FLIGHT PLAN. FAILURE TO IDENTIFY THE CORRECT UNITS WHEN REFUELING PRIOR TO FLIGHT CAN RESULT IN DEPARTING WITH INSUFFICIENT FUEL AND/OR AN ERRONEOUS PAYLOAD.

==========
CREW BULLETIN
==========

NIL

========== END OF LIDO-NOTAM-BULLETIN ==========

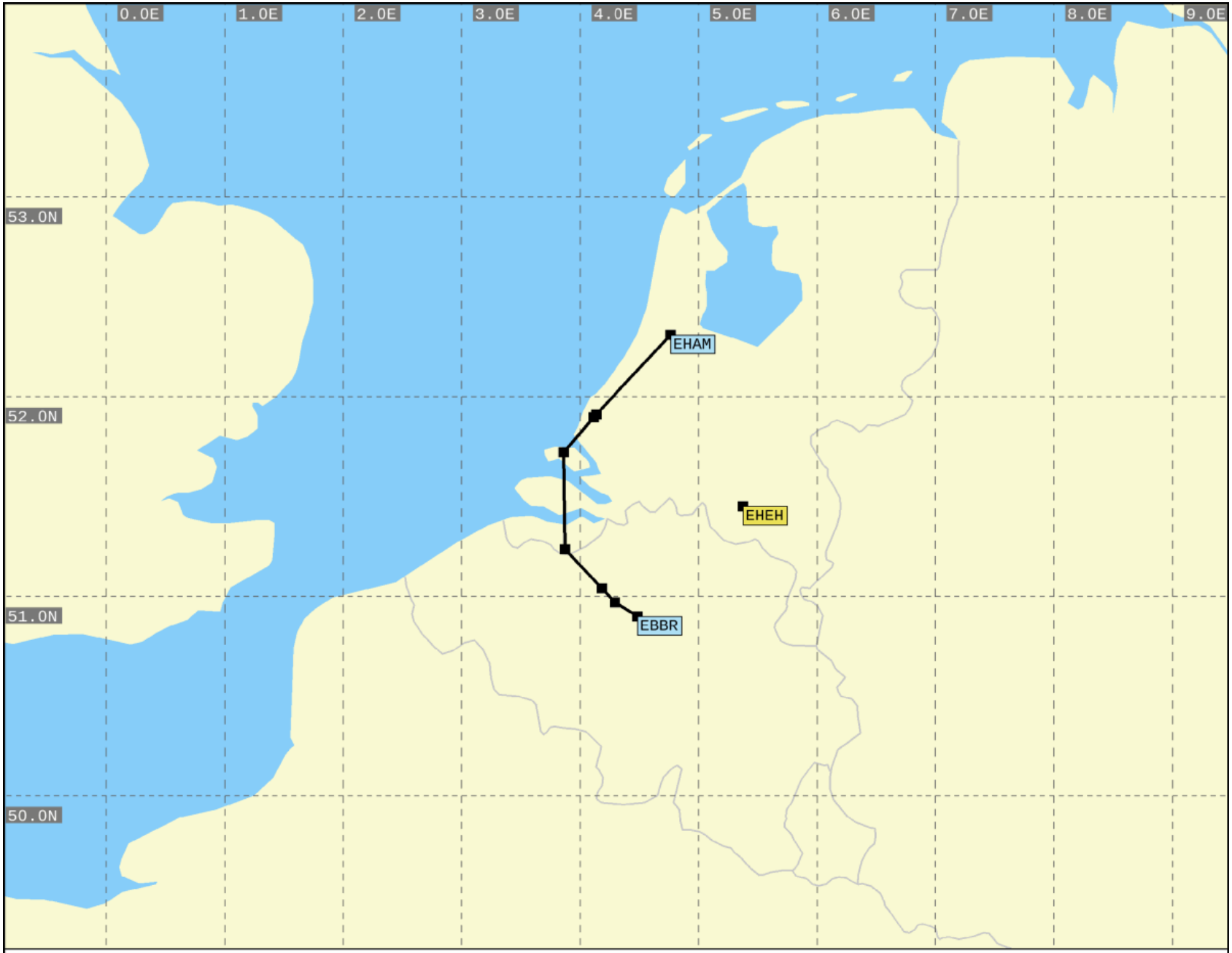

Flight: AY1010 Dep / Dest: BRU / AMS

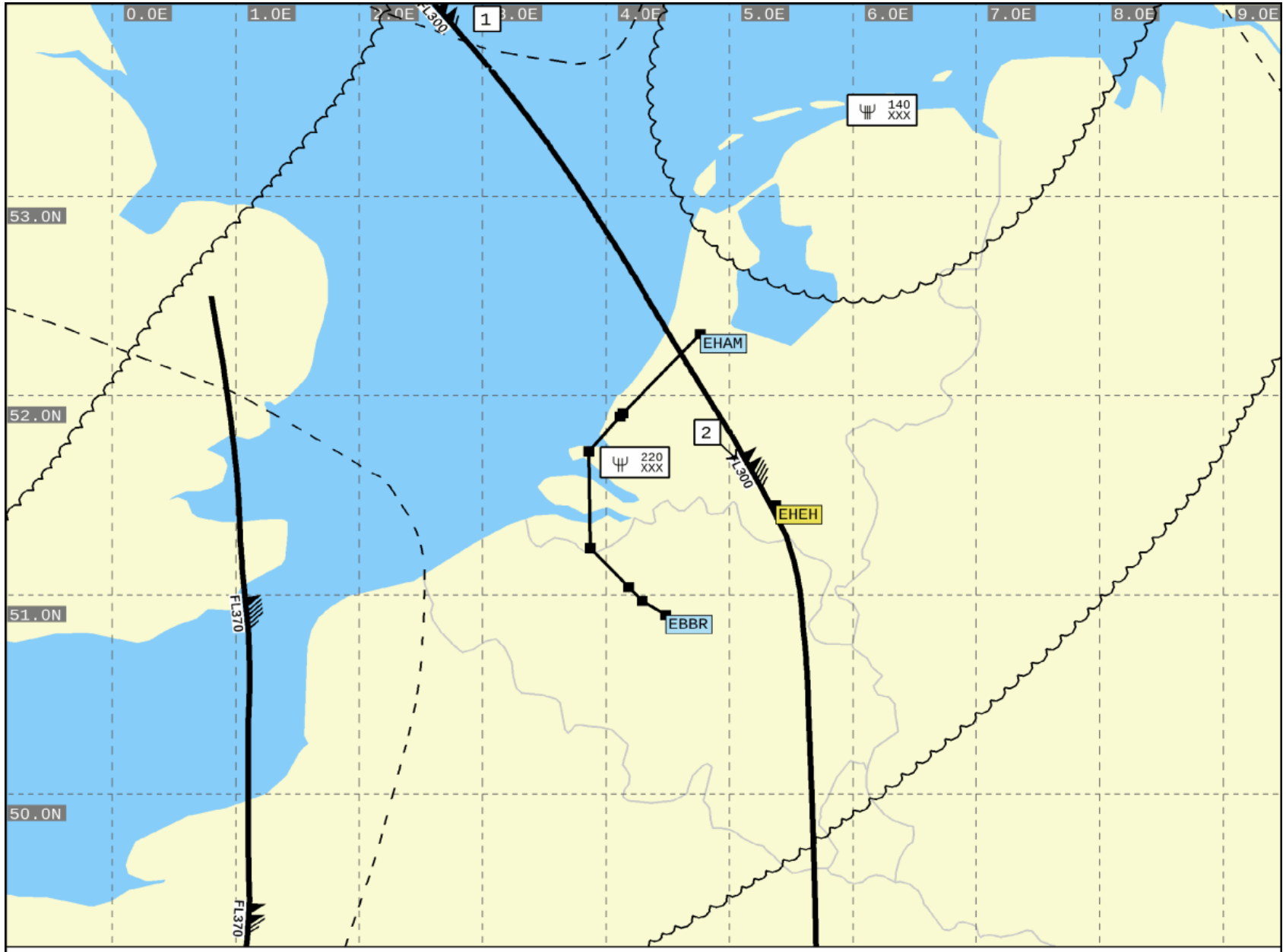

SIG WX FL 100-450 WASHINGTON
VALID 18 UTC ON 29.Mar.2026

1 400 160

2 400 160

Flight: AY1010 Dep / Dest: BRU / AMS

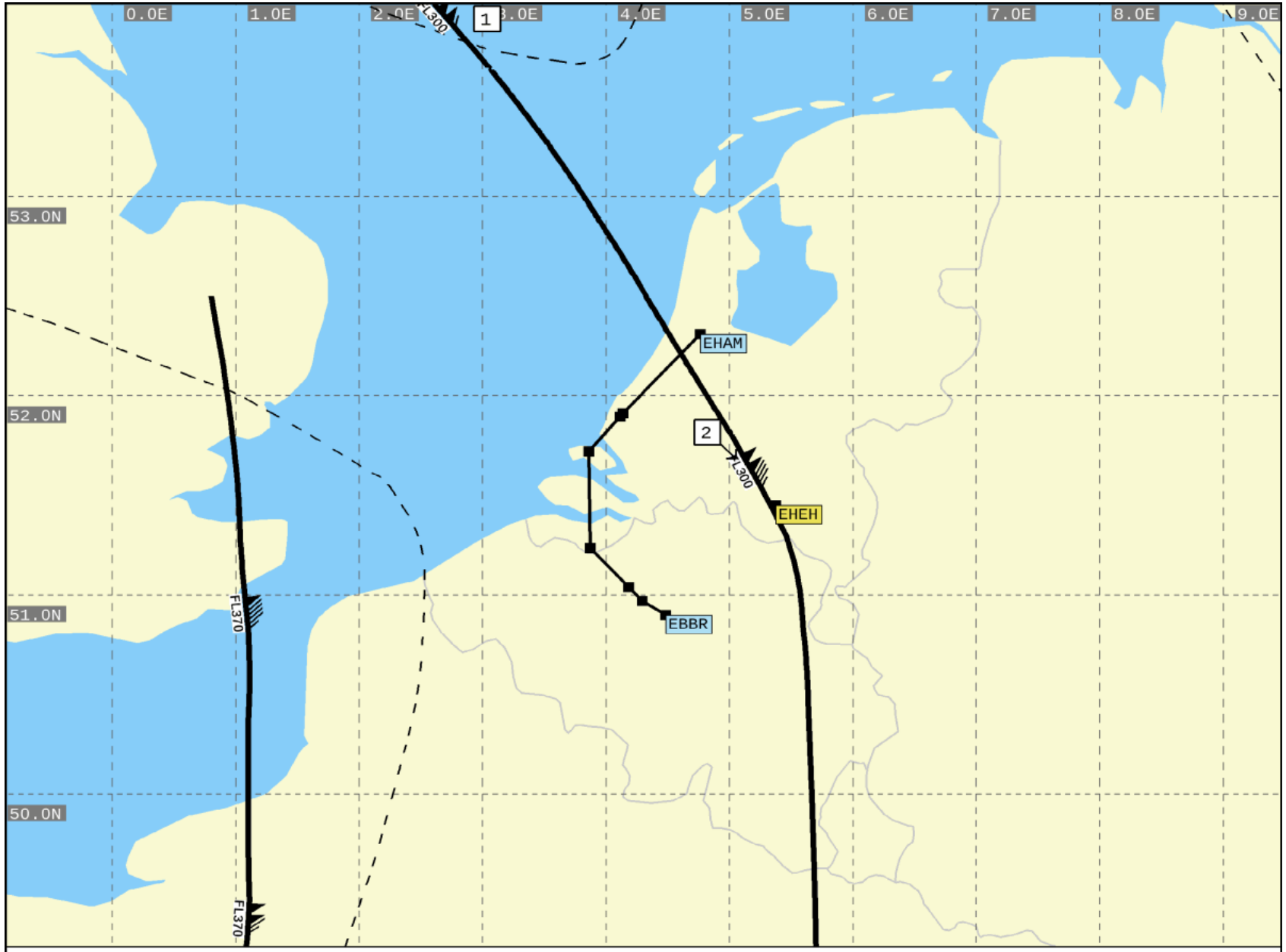

SIG WX FL 250-630 WASHINGTON
VALID 18 UTC ON 29.Mar.2026

1 400 XXX

2 400 XXX

Flight: AY1010 Dep / Dest: BRU / AMS

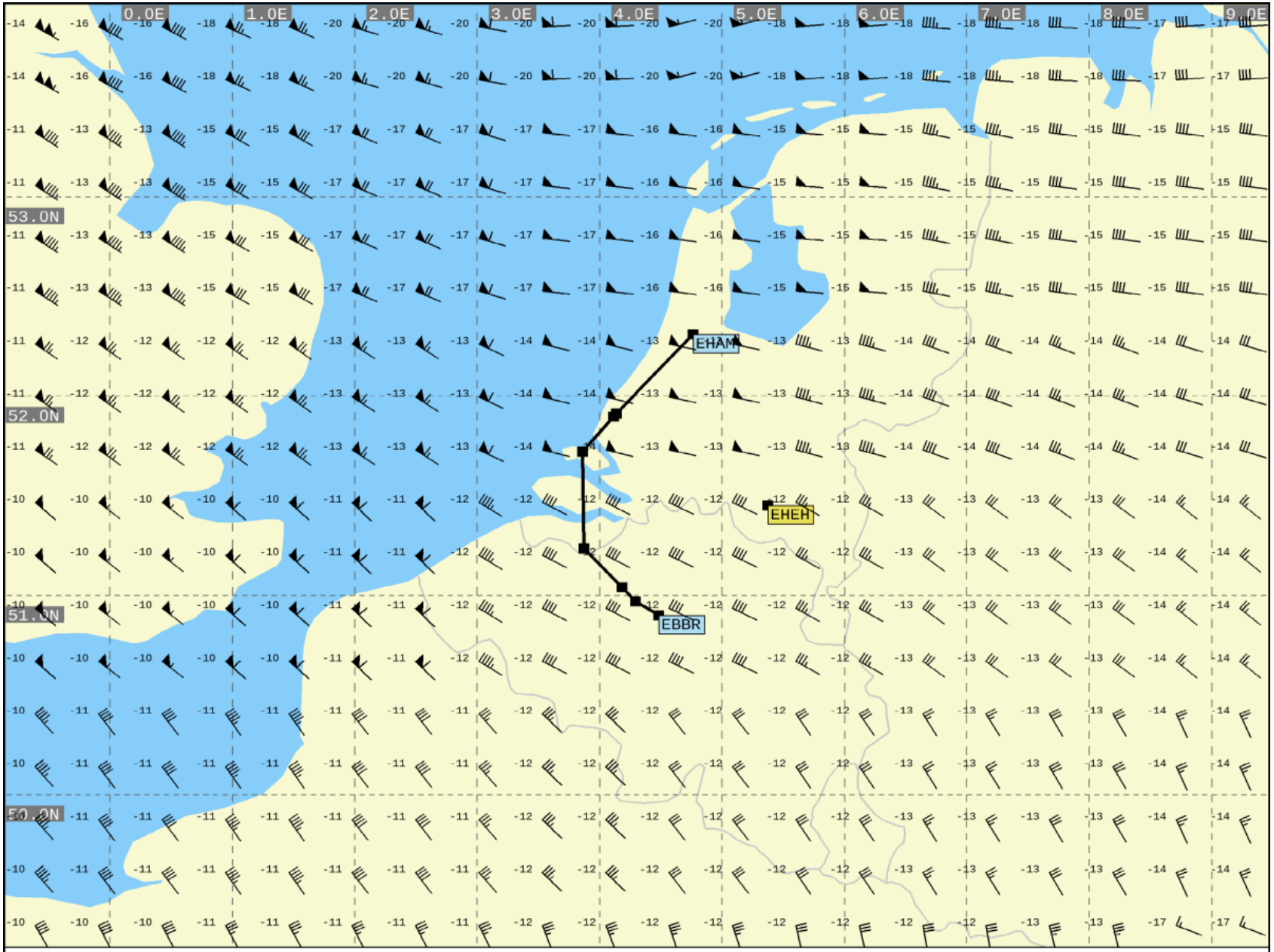

UAD VALID 18 UTC ON 29.Mar.2026 06h FL 140

Flight: AY1010 Dep / Dest: BRU / AMS

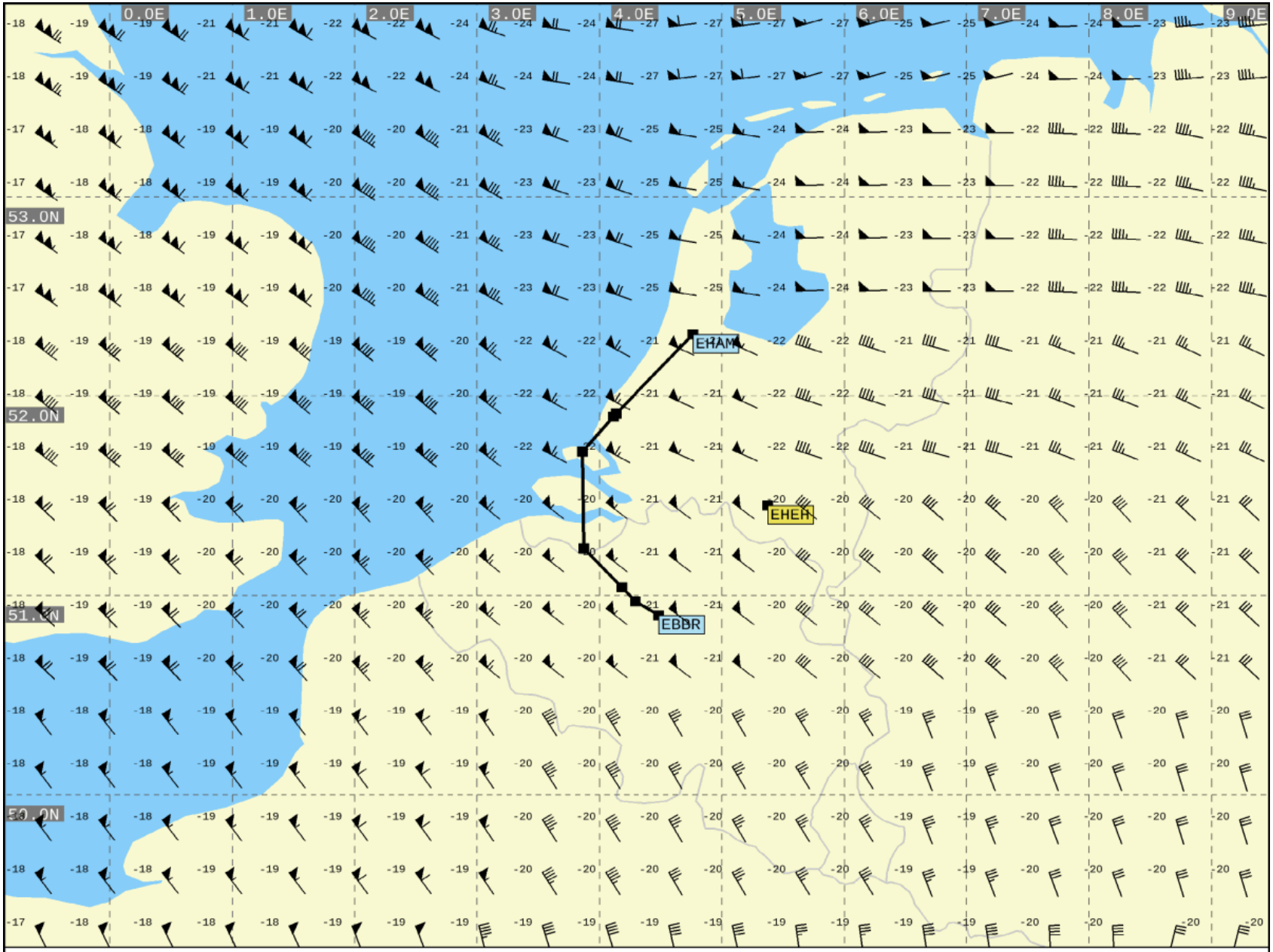

UAD VALID 18 UTC ON 29.Mar.2026 06h FL 180

Flight: AY1010 Dep / Dest: BRU / AMS

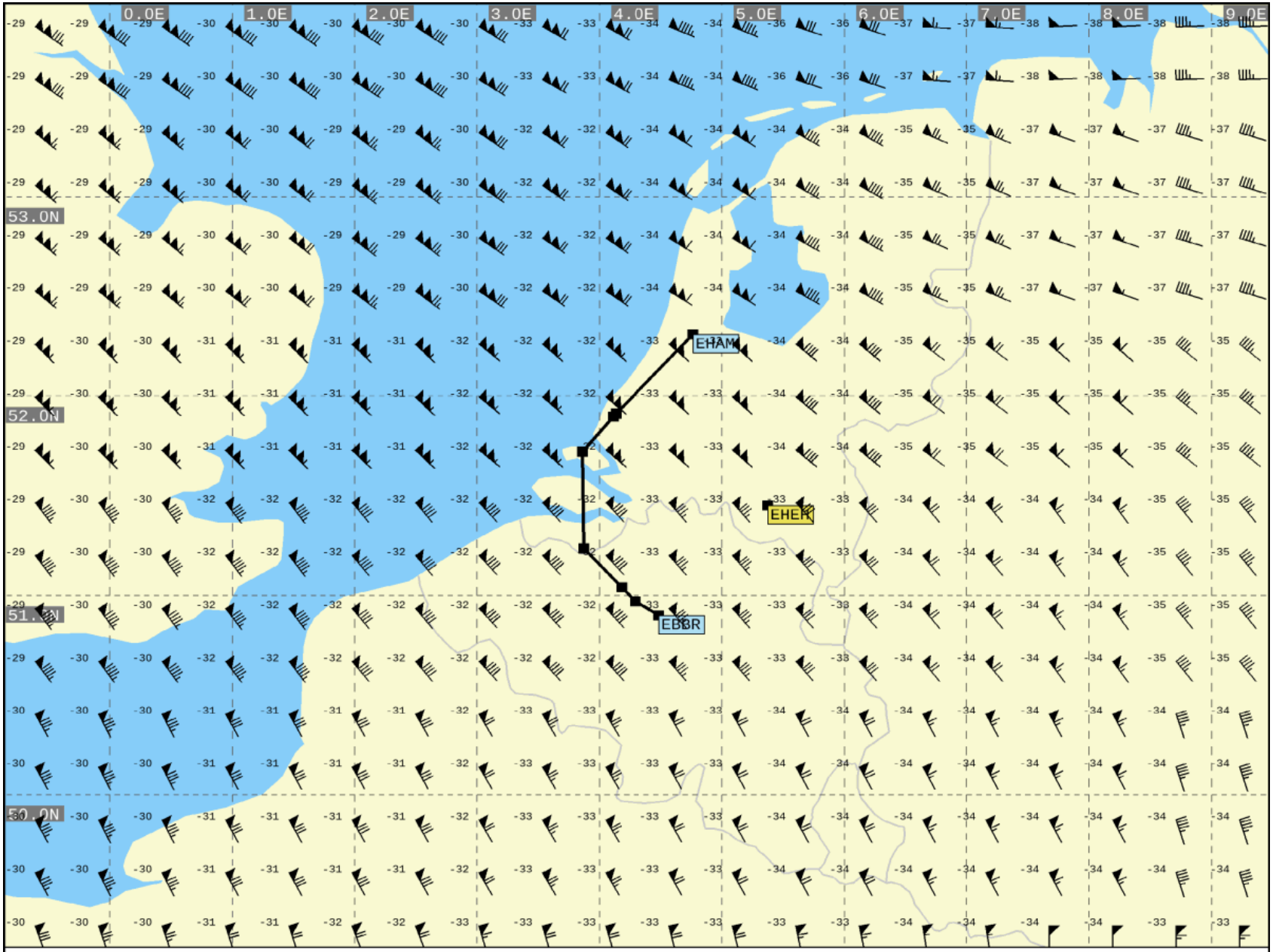

UAD VALID 18 UTC ON 29.Mar.2026 06h FL 240

Flight: AY1010 Dep / Dest: BRU / AMS



Profile VALID 18 UTC ON 29.Mar.2026 06h Average

Flight: AY1010 Dep / Dest: BRU / AMS

End of Document: Total Number of Pages: 29