[OFP]

```
---------------------------------------------------------------------
N339SB    20MAR2026    EGLL-LPPT   A333 N339SB  RELEASE 1002 20MAR26
OFP 1              HEATHROW-HUMBERTO DELGADO
                         WX PROG 2009 2012 2015   OBS 2006 2006 2006

  ATC C/S   N339SB       EGLL/LHR   LPPT/LIS      CRZ SYS      CI 17
20MAR2026   N339SB       1035/1055  1307/1315     GND DIST       933
A330-300 / TRENT 772                STA  1320     AIR DIST       938
                         CTOT:....                G/C DIST       845
                                                  AVG WIND   134/011
MAXIMUM    TOW 233000  LAW 187000  ZFW 175000     AVG W/C       M002
ESTIMATED  TOW 178279  LAW 166812  ZFW 159853     AVG ISA       M002
                                                  AVG FF KGS/HR 5194
                                                  FUEL BIAS    P00.0
ALTN LPPR                                         TKOF ALTN  .......
FL STEPS EGLL/0390/
---------------------------------------------------------------------
DISP RMKS   NIL

---------------------------------------------------------------------
         PLANNED FUEL
----------------------------------
FUEL           ARPT   FUEL   TIME
----------------------------------
TRIP            LIS  11467   0212
CONT 15 MIN           1298   0015
ALTN            OPO   3452   0036
FINRES                2209   0030
----------------------------------
MINIMUM T/OFF FUEL   18426   0334
----------------------------------
EXTRA                    0   0000
----------------------------------
T/OFF FUEL           18426   0334
TAXI            LHR    544   0020
----------------------------------
BLOCK FUEL      LHR  18970
PIC EXTRA            .....
TOTAL FUEL           .....
REASON FOR PIC EXTRA ............
---------------------------------------------------------------------
FMC INFO:
FINRES+ALTN           5661
TRIP+TAXI            12011
---------------------------------------------------------------------
NO TANKERING RECOMMENDED (P)
---------------------------------------------------------------------
I HEREWITH CONFIRM THAT I HAVE PERFORMED A THOROUGH SELF BRIEFING
ABOUT THE DESTINATION AND ALTERNATE AIRPORTS OF THIS FLIGHT
INCLUDING THE APPLICABLE INSTRUMENT APPROACH PROCEDURES, AIRPORT
FACILITIES, NOTAMS AND ALL OTHER RELEVANT PARTICULAR INFORMATION.

DISPATCHER: CARROLL FLYNN               PIC NAME: GM, PAYAM

TEL: +1 800 555 0199               PIC SIGNATURE: ...............
```

```
ALTERNATE ROUTE TO:                                          FINRES   2209
APT      TRK DST              VIA                        FL  WC  TIME  FUEL
-----------------------------------------------------------------------
LPPR/35  007 201  IXIDA1S IXIDA DCT ABLEG              260 P019 0036  3452
                  ABLEG6C
-----------------------------------------------------------------------

MEL/CDL ITEMS DESCRIPTION
------------- -----------

-----------------------------------------------------------------------

ROUTING:

ROUTE ID: DEFRTE
EGLL/09R GASGU2J GASGU N866 SAM M195 LORKU DCT BALDA DCT ABUPI DCT
XAMAX XAMAX3B LPPT/20

-----------------------------------------------------------------------
DEPARTURE ATC CLEARANCE:
.
.
.
-----------------------------------------------------------------------
                         OPERATIONAL IMPACTS
                         -------------------
WEIGHT CHANGE UP 1.0          TRIP  P 0059 KGS   TIME M 0000
WEIGHT CHANGE DN 1.0          TRIP  M 0070 KGS   TIME P 0000
FL CHANGE     UP FL1                 NOT AVAILABLE
FL CHANGE     DN FL1          TRIP  P 0200 KGS   TIME P 0002
FL CHANGE     DN FL2          TRIP  P 0593 KGS   TIME P 0003
SPD CHANGE    CI 0            TRIP  M 0055 KGS   TIME P 0000
SPD CHANGE    CI 300          TRIP  P 0526 KGS   TIME M 0003
-----------------------------------------------------------------------
```

```
-----------------------------------------------------------------------
ATIS:
.
.
--------- --------- --------- --------- --------- --------- --------
RVSM: ALT SYS  LEFT:             STBY:             RIGHT:

--------- --------- --------- --------- --------- --------- --------
-----------------------------------------------------------------------
                                TIMES
                                -----

               ESTIMATED        SKED              ACTUAL

OUT            1035Z/1035L      1035Z/1035L       ......Z

OFF            1055Z/1055L      1055Z/1055L       ......Z

ON             1307Z/1307L      1312Z/1312L       ......Z

IN             1315Z/1315L      1320Z/1320L       ......Z

BLOCK TIME     0240             0245              ......

-----------------------------------------------------------------------
                               WEIGHTS
                               -------

                EST      MAX     ACTUAL

PAX             312              ......

BAG/CARGO       7.8              ......

PAYLOAD        32.6              ......

ZFW           159.9    175.0     ......

FUEL           19.0     39.2     ......  POSS EXTRA 20.2

TOW           178.3    198.5  LDG......

STAB TRIM                        ......

LAW           166.8    187.0     ......

-----------------------------------------------------------------------
                       TERRAIN CLEARANCE CHECK
                       -----------------------
DD CHECK - TERRAIN CLEARANCE CHECK DISABLED

DP CHECK - TERRAIN CLEARANCE CHECK DISABLED
-----------------------------------------------------------------------
```

FLIGHT LOG

MOST CRITICAL MORA 08600 FEET AT BALDA///MXSHR 04 AT TOC

AWY POSITION IDENT FREQ	LAT LONG	EET TTLT	ETO ATO	FL MORA DIS	IMT ITT RDIS	MN TAS GS	WIND COMP SHR	OAT TDV TRP	EFOB AFOB	PBRN ABRN
					118				18.4	0.5
HEATHROW	N5128.7		...	22	118		M007			
EGLL	W00027.7	0000	...		933	252			....	....
GASGU2J				029	120	.39	070/010	06	17.9	1.1
LON130002	N5127.9	0001	...	21	121		M007	M03		
D130B	W00025.6	0001	...	2	931	252		375	....	....
GASGU2J				041	196	.40	066/009	05	17.8	1.2
LON124005	N5126.4	0001	...	26	197		M005	M02		
D124E	W00021.4	0002	...	3	928	260		375	....	....
GASGU2J				091	234	.44	011/009	M04	17.4	1.6
OCK041002	N5119.8	0001	...	26	235		P009	M01		
D041B	W00024.7	0003	...	7	921	295		375	....	....
GASGU2J				106	253	.55	355/012	M07	17.3	1.7
OCK253001	N5117.9	0001	...	26	253		P006	M01		
D253A	W00029.0	0004	...	3	918	358		375	....	....
GASGU2J				118	252	.56	351/014	M09	17.2	1.8
OCK253005	N5117.0	0000	...	27	252		P002	P00		
D253E	W00034.0	0004	...	3	915	361		375	....	....
GASGU2J				178	223	.63	045/014	M18	16.6	2.4
GASGU	N5112.4	0003	...	27	224		P012	P03		
GASGU	W00057.6	0007	...	15	900	410		375	....	....
N866				245	213	.73	087/033	M34	15.9	3.0
SOUTHAMPTON	N5057.3	0003	...	23	213		P024	P00		
SAM	W00120.7	0010	...	21	879	468		375	....	....
113.35										
M195				307	212	.80	100/061	M48	15.4	3.6
IBNID	N5031.7	0003	...	20	213		P020	M02		
IBNID	W00147.1	0013	...	31	848	488		376	....	....
M195				340	212	.80	098/052	M56	15.1	3.9
MARUK	N5014.8	0002	...	20	212		P020	M03		
MARUK	W00204.3	0015	...	20	828	479		369	....	....
M195				372	203	.80	097/038	M59	14.7	4.2
LORKU	N4956.3	0003	...	20	203		P015	M02		
LORKU	W00222.3	0018	...	22	806	471		369	....	....
FRANCE FIR/UIR										
-LFFF	N4956.2	0000	...							
	W00222.3	0018	...	0	806					

```
AWY                                FL   IMT   MN    WIND  OAT  EFOB  PBRN
POSITION    LAT      EET ETO MORA  ITT  TAS    COMP  TDV
IDENT       LONG    TTLT ATO DIS  RDIS   GS     SHR  TRP  AFOB  ABRN
FREQ
-----------------------------------------------------------------------
DCT                               390   205  .80 095/025  M60  14.5   4.5
T O C       N4941.6 0001 ...  30   203  455    P007  M03
           W00232.0 0019 ...  16   790  462       4  369  ....  ....

DCT                               390   204  .80 065/007  M60  11.1   7.9
BALDA       N4436.6 0043 ...  86   203  454    P005  M03
BALDA      W00533.2 0102 ... 329   461  459       1  364  ....  ....

MADRID FIR/UIR
-LECM       N4436.6 0000 ...
           W00533.2 0102 ...   0   461

LISBON FIR
-LPPC       N4157.8 0023 ...
           W00706.8 0125 ... 172   289

DCT                               390   211  .80 141/013  M59   9.2   9.8
ABUPI       N4145.1 0002 ...  62   210  455    M006  M02
ABUPI      W00714.2 0127 ...  15   274  449       3  357  ....  ....

DCT                               390   177  .80 189/024  M57   7.9  11.1
XAMAX       N4001.9 0017 ...  41   176  458    M022  P00
XAMAX      W00832.2 0144 ... 119   155  436       1  347  ....  ....

XAMAX3B                           390   212  .80 206/034  M56   7.7  11.2
PT810       N3945.5 0002 ...  44   211  459    M030  P01
PT810      W00830.8 0146 ...  16   139  429       1  354  ....  ....

XAMAX3B                           390   214  .80 206/033  M56   7.6  11.4
T O D       N3933.5 0002 ...  44   211  460    M033  P01
           W00840.2 0148 ...  14   125  427       1  354  ....  ....

XAMAX3B                           356   271  .80 226/039  M59   7.5  11.4
PT812       N3923.9 0002 ...  38   270         M038  M03
PT812      W00847.8 0150 ...  11   114  418          347  ....  ....

XAMAX3B                           309   271  .80 216/036  M51   7.5  11.5
PT832       N3924.0 0002 ...  27   270         M022  M04
PT832      W00907.1 0152 ...  15    99  443          347  ....  ....

XAMAX3B                           262   181  .76 194/031  M39   7.4  11.5
PT814       N3924.0 0003 ...  23   179         M008  M02
PT814      W00926.5 0155 ...  15    84  448          347  ....  ....

XAMAX3B                           246   181  .73 199/028  M34   7.4  11.6
PT816       N3919.0 0001 ...  24   179         M026  P00
PT816      W00926.5 0156 ...   5    79  419          347  ....  ....

XAMAX3B                           215   091  .69 199/023  M26   7.4  11.6
PT818       N3908.5 0001 ...  29   089         M022  P02
PT818      W00926.4 0157 ...  10    69  401          347  ....  ....
```

```
AWY                                FL   IMT   MN    WIND  OAT  EFOB  PBRN
POSITION    LAT       EET ETO MORA  ITT  TAS    COMP  TDV
IDENT       LONG     TTLT ATO DIS  RDIS   GS     SHR  TRP  AFOB  ABRN
FREQ
-----------------------------------------------------------------------
XAMAX3B                          190   057  .65 191/016  M20   7.4  11.6
EKLID       N3908.5 0002 ...  40   056         P003  P03
EKLID      W00915.8 0159 ...   8    61  409          347  ....  ....

XAMAX3B                          172   080  .63 167/011  M16   7.3  11.6
ROTBU       N3911.8 0001 ...  40   078         P004  P03
ROTBU      W00909.6 0200 ...   6    55  399          347  ....  ....

XAMAX3B                          153   103  .60 131/011  M12   7.3  11.7
LERLI       N3912.9 0001 ...  34   101         M007  P04
LERLI      W00902.2 0201 ...   6    49  375          347  ....  ....

XAMAX3B                          134   125  .58 124/013  M08   7.3  11.7
FADEF       N3911.7 0001 ...  25   124         M012  P04
FADEF      W00854.8 0202 ...   6    43  359          347  ....  ....

XAMAX3B                          115   148  .56 137/017  M04   7.3  11.7
PT852       N3908.4 0001 ...  24   146         M017  P04
PT852      W00848.6 0203 ...   6    37  343          347  ....  ....

XAMAX3B                          097   264  .45 148/013  M02   7.3  11.7
PT850       N3903.5 0001 ...  34   262         M013  P02
PT850      W00844.4 0204 ...   6    31  278          347  ....  ....

XAMAX3B                          050   159  .41 135/018   05   7.2  11.8
COCUN       N3901.6 0002 ...  34   157         P010  P00
COCUN      W00904.1 0206 ...  15    16  279          347  ....  ....

XAMAX3B                          037   203  .40 133/018   07   7.2  11.8
UPKAT       N3858.0 0001 ...  32   201         M017  M01
UPKAT      W00902.2 0207 ...   4    12  247          347  ....  ....

XAMAX3B                                                   7.0  12.0
HUMBERTO DE N3846.5 0005 ...
LPPT       W00908.1 0212 ...  12                       ....  ....
```

WIND INFORMATION

CLIMB	T O C	BALDA	ABUPI
350 097/046 -57	430 052/014 -57	430 102/014 -57	430 179/013 -56
310 089/029 -50	410 080/018 -58	410 103/015 -58	410 174/014 -58
200 059/020 -23	390 095/025 -60	390 105/015 -60	390 169/014 -59
150 006/012 -14	370 099/032 -59	370 111/016 -59	370 159/024 -59
100 001/011 -06	350 100/039 -57	350 119/016 -58	350 154/037 -60

XAMAX	PT810	T O D	DESCENT
430 204/026 -55	430 204/026 -55	430 204/026 -55	350 227/038 -59
410 205/030 -56	410 206/030 -56	410 206/030 -56	310 215/036 -52
390 206/034 -56	390 206/033 -56	390 207/033 -56	200 193/019 -22
370 212/031 -57	370 212/031 -57	370 212/031 -57	150 129/011 -12
350 220/028 -58	350 220/028 -58	350 220/028 -58	100 147/013 -02

[ATC Flight Plan]

```
-----------------------------------------------------------------------
                          ICAO FLIGHT PLAN
                          ----------------

FF EGTTZQZX LFFFZQZX LECMZQZX LPPCZQZX
201002 CYULSBFP
(FPL-N339SB-IS
-A333/H-SDE3GHIJ2J3J5M1RVWXY/LB2D1
-EGLL1035
-N0454F390 GASGU2J GASGU N866 SAM M195 LORKU DCT BALDA DCT ABUPI DCT
 XAMAX XAMAX3B
-LPPT0202 LPPR
-PBN/A1B1C1D1O1S2 DOF/260320 REG/N339SB EET/LFFF0018 LECM0102
 LPPC0125 PER/C RMK/TCAS)
```

[Additional Info]

D I S P A T C H B R I E F I N G I N F O N339SB EGLL/LPPT

[Runway Analysis]

```
----------------------------------------------------------------------

TAKEOFF AND LANDING REPORT N339SB EGLL-LPPT 20MAR26
TLR-1 SEQ-166734861 20MAR26 1002Z
A/C N339SB  A330-300 TRENT 772  BEW/CG 127303/.....

/// TAKEOFF DATA ///

APT   PRWY  POAT PWIND  PQNH  PMRTW FLP MT V1 VR V2 PTOW MFPTW LIMIT
EGLL  09R   9.0  049M06 1023  2330  1   54 31 31 38 1783 1985  AFM

RMKS FLEX - SEL TEMP 54
     BLEEDS ON

---- ---- ------ ----- ------- --- --- --- --- --- -----------------
RWY  OAT  WIND   QNH   MRTW    FLP V1  VR  V2  PWR CONFIG/CONDITION

---------------------------- ACARS RUNWAYS ---------------------------
RWY          ACARS  LENGTH PMTOW NOTES
09L                  12799  2330 ILS 110.30
09R                  12001  2330 ILS 109.50
27L                  12001  2330 ILS 109.50
27R                  12736  2330 ILS 110.30

-------------------- DRY RWY - PTOW - CALM WIND --------------------
RWY          MTOW MT CONFIG                   FLP  V1  VR  V2  LIMIT
09L          2330 54 FLEX - BLEEDS ON           1 131 131 138  AFM
09R          2330 54 FLEX - BLEEDS ON           1 131 131 138  AFM
27L          2330 54 FLEX - BLEEDS ON           1 131 131 138  AFM
27R          2330 54 FLEX - BLEEDS ON           1 131 131 138  AFM

--------------- DRY RWY - PTOW PLUS 4000 - CALM WIND ---------------
RWY          MTOW MT CONFIG                   FLP  V1  VR  V2  LIMIT
09L          2330 54 FLEX - BLEEDS ON           1 133 133 139  AFM
09R          2330 54 FLEX - BLEEDS ON           1 133 133 139  AFM
27L          2330 54 FLEX - BLEEDS ON           1 133 133 139  AFM
27R          2330 54 FLEX - BLEEDS ON           1 133 133 139  AFM

------------- WET RWY - PTOW - CALM WIND - ENG A/I ON --------------
RWY          MTOW MT CONFIG                   FLP  V1  VR  V2  LIMIT
09L          2330 54 FLEX - BLEEDS ON           1 131 131 138  AFM
09R          2330 54 FLEX - BLEEDS ON           1 131 131 138  AFM
27L          2330 54 FLEX - BLEEDS ON           1 131 131 138  AFM
27R          2330 54 FLEX - BLEEDS ON           1 131 131 138  AFM

-------- WET RWY - PTOW PLUS 4000 - CALM WIND - ENG A/I ON ---------
RWY          MTOW MT CONFIG                   FLP  V1  VR  V2  LIMIT
09L          2330 54 FLEX - BLEEDS ON           1 133 133 139  AFM
09R          2330 54 FLEX - BLEEDS ON           1 133 133 139  AFM
27L          2330 54 FLEX - BLEEDS ON           1 133 133 139  AFM
27R          2330 54 FLEX - BLEEDS ON           1 133 133 139  AFM

/// LANDING DATA ///

APT   PRWY  POAT PWIND  PQNH  PMRLW FLP  PLDW  LIMIT
LPPT  20    14.0 112M07 1008  1870  FULL 1668  AFM

RMKS WET RUNWAY
```

```
-------- ---- ------ ----- ------- --- ----- --- -------------------
RWY      OAT  WIND   QNH   MRLW    FLP VREF  PWR CONFIG/CONDITION

---------------------------- ACARS RUNWAYS --------------------------
RWY          ACARS  LENGTH PMRLW NOTES
02                   11867  1870 ILS 109.10
20                   10522  1870 ILS 109.50

------------- FLAPS FULL - PACKS ON - NO ENROUTE ICING -------------
DRY RWY / WET RWY
            02             20
  OAT       11867 FT       10522 FT
   09       1870A/1870A    1870A/1870A
 / 14       1870A/1870A    1870A/1870A
   19       1870A/1870A    1870A/1870A
HW/10KT         0/    0        0/    0
TW/10KT         0/    0        0/    0

-------- LANDING DISTANCE - FLAPS FULL - MAX MANUAL BRAKING --------
                   ACTUAL             FACTORED
  LDW     VREF     DRY      WET      DRY      WET
  1640    128     3355     4235     4442     5454
  1660    128     3382     4269     4484     5504
/ 1680    129     3410     4304     4527     5554
  1700    130     3437     4338     4569     5605
  1720    131     3471     4381     4619     5665
HW/KT              -20      -26      -23      -29
TW/KT               62       77       91      110

END TAKEOFF AND LANDING REPORT N339SB EGLL-LPPT 20MAR26
```

[Airport WX List]

```
-----------------------------------------------------------------------
EGLL --> LPPT      N339SB / 20MAR2026
LIDO/WEATHER SERVICE       DATE : 20Mar2026   TIME : 10:02 UTC

AIRMETs:
  No Wx data available

SIGMETs:
LPPC  LISBON FIR
  WS  SIGMET T02 VALID 200915/201145 LPPT- LPPC LISBOA FIR
             EMBD TS FCST WI N3558 W012 - N3558 W01116 - N3711
             W01116 - N3710 W01335 - N3450 W01528 - N3333 W01344 -
             N3558 W012 TOP FL350 MOV NNE 30KT NC=

Tropical Cyclone SIGMETs:
  No Wx data available

Volcanic Ash SIGMETs:
  No Wx data available

Departure:
EGLL/LHR  HEATHROW
  SA  200950  COR AUTO 05006KT 020V090 9999 NCD 09/04 Q1023 NOSIG
  FT  200650  2006/2112 06006KT CAVOK
              TEMPO 2006/2009 7000
              PROB30 2006/2008 4000 BR BKN004
              PROB30 TEMPO 2008/2010 BKN007
              TEMPO 2101/2109 7000
              PROB30 2104/2108 4000 BR

Destination:
LPPT/LIS  HUMBERTO DELGADO
  SA  200930  11009G22KT 070V150 9999 VCSH BKN011 14/12 Q1008
  FT  200500  2006/2112 11007KT 9999 SCT015
              TEMPO 2006/2112 5000 SHRA BKN008 FEW020CB
              PROB30 TEMPO 2006/2112 VRB15G25KT 2000 TSRA BKN004
              SCT016CB
              BECMG 2015/2017 08007KT

Destination Alternates:
LPPR/OPO  FRANCISCO SA CARNEIRO
  SA  200930  10005KT 080V150 7000 RA FEW012 FEW018CB BKN045 14/13
              Q1010
  FT  200500  2006/2106 VRB05KT 9999 SCT030
              TEMPO 2006/2017 5000 SHRA BKN015 FEW018CB
              BECMG 2015/2017 36008KT
              BECMG 2022/2024 VRB02KT


  AIRPORTLIST ENDED
```

[NOTAM]

LIDO-NOTAM-BULLETIN INCLUDES NOTAM, COMP NOTAM AND AIP-REGULATION
VALID: 2603201035 - 2603201652 STD(EOBT)+TRIP+ALTN+3HRS
N339SB /20MAR OFP-NR: 1
ROUTE: EGLL - LPPT ALTN: LPPR
N0454F390 GASGU2J GASGU N866 SAM M195 LORKU DCT BALDA DCT ABUPI DCT XAMAX XAMAX3B

==========
DEPARTURE AIRPORT - DETAILED INFO
==========

EGLL/LHR HEATHROW

++++++++++++++++++++++++++++ AIRPORT ++++++++++++++++++++++++++++++

A1102/26
LIT CRANE OPR AT PSN 513045N 0002729W (WEST DRAYTON). MAX HGT 213FT AGL, 324FT AMSL. CRANE REF 20260319177
A1071/26
ADD A NEW CRANE TO LONDON HEATHROW **AD** OBSTACLES - IN CIRCLING AREA AND AT **AD**
OBSTACLE ID: 20260206143
TYPE: CRANE
POSITION: 513006N 0002424W
ELEVATION/HEIGHT: 299FT AMSL/197FT AGL
LIGHTING: YES - RED
REMARKS: HEATHROW ASPHALT PLANT, NORTH HYDE GARDENS, HAYES. CRANE WILL NOT OPR IN LVP.
UK AIP EGLL **AD** 2.10 REFERS.
A1020/26
AD NOT AVBL FOR DIVERTED TFC DUE MIDDLE EAST CRISIS AND CAPACITY ISSUES. HOME BASED CARRIERS AND EMERG TFC ARE EXEMPT. ANY QUERIES PLEASE CTC THE ACFT OPS MANAGER ON +44(0)7525 825585
A0995/26
MAR 12-27 2230-0430, MAR 28 2230-0330, MAR 29-APR 11 2130-0330
LIT CRANE OPR WI PSN 512851N 0002446W - 512850N 0002442W - 512849N 0002442W - 512850N 0002446W - 512851N 0002446W (HEATHROW). MAX HGT 180FT AGL, 260FT AMSL. CRANE WILL ONLY OPR WHEN 09L/27R IS **CLSD**. NO CRANE OPR IN LVP. REF 2026031186.0
A0956/26
MAR 10-27 2230-0430, MAR 28 2230-0330, MAR 29-APR 16 2130-0330
LIT CRANE OPR WI PSN 512828N 0002706W - 512828N 0002703W - 512827N 0002704W - 512827N 0002705W - 512828N 0002706W (HEATHROW). MAX HGT 136FT AGL, 216FT AMSL. CRANE WILL ONLY OPR WHEN **RWY 09L/27R** IS **CLSD**. NO CRANE OPR IN LVP. REF 20260223190
A0908/26
MAR 06-27 2230-0430, MAR 28 2230-0330, MAR 29-30 2130-0330
LIT CRANE OPR PSN 512850N 0002708W - 512850N 0002703W - 512847N 0002703W - 512847N 0002708W - 512850N 0002708W (HEATHROW). MAX HGT 33FT AGL, 117FT AMSL. NO CRANE OPR IN LVP. CRANE WILL ONLY OPR WHEN **RWY 09L/27R** IS **CLSD**. CRANE REF 2026010942
A0893/26
NDB BUR/BURNHAM 421KHZ **U/S**

A0708/26
FEB 23- MAR 27 2230-0430, MAR 28 2230-0330, MAR 29 2130-0330
LIT CRANE OPR WI PSN 512849N 0002707W - 512849N 0002705W -
512848N 0002705W - 512848N 0002707W - 512849N 0002707W
(HEATHROW). MAX HGT 52FT AGL, 137FT AMSL. CRANE WILL ONLY OPR WHEN
09L/27R IS **CLSD**. NO CRANE OPR IN LVP. REF 20260213145

A0712/26
FEB 23-27 2230-0430, MAR 02-06 2230-0430, MAR 09-13 2230-0430, MAR
23-27 2230-0430, MAR 30-APR 03 2130-0330, APR 06-10 2130-0330, APR
13-17 2130-0330, APR 20-24 2130-0330, APR 27-29 2130-0330
LIT CRANE OPR AT PSN 512740N 0002746W (HEATHROW). MAX
HGT 131FT AGL, 209FT AMSL. NO CRANE OPR IN LVP'S. NO APPROACHES OR
DEPARTURES FROM **RWY 09R/27L** WILL TAKE PLACE WHEN CRANE IS OPR.
CRANE REF 20260219133.

A0338/26
MON-FRI 0700-1800
LIT CRANE OPR PSN 513032N 0002732W - 513032N 0002726W -
513031N 0002726W - 513031N 0002732W - 513032N 0002732W
(WEST DRAYTON). MAX 138FT AGL, 242FT AMSL. NO CRANE OPR IN LVP.
CRANE REF 20260121145

A0710/26
FEB 23-27 MAR 02-06 0700-1900, MAR 09-13 0700-1900, MAR 23-27 ,
0700-1900, MAR 30-31 0600-1800
LIT CRANE OPR PSN 513002N 0002447W (HAYES). MAX HGT 148FT AGL,
249FT AMSL. NO CRANE OPR IN LVP. CRANE REF 20251023110

A0420/26
LONDON HEATHROW AERODROME OBSTACLES - NEW CRANE ADDED IN CIRCLING
ARAD AND AT **AD**
TYPE: CRANE
ID: 20251216118
PSN: 512829N 0002926W
ELEVATION: 43FT AGL / 124FT AMSL
LIGHTING: RED
REMARKS: HEATHROW AIRPORT CONTROL POST 18 **WIP**.
CRANE WILL NOT OPR WHEN **RWY 09L/27R** IS OPR IN EASTERLY
CONFIGURATION.
CRANE WILL OPERATE WITHIN THE AREA BOUNDED BY THE FOLLOWING
COORDINATES: 512830N 0002927W - 512830N 0002928W - 512827N
0002925W - 512827N 0002924W.
UK AIP EGLL **AD** 2.10 REFERS.

A0358/26
LONDON HEATHROW AERODROME OBSTACLES - NEW CRANE ADDED IN CIRCLING
AREA AND AT **AD**
TYPE: CRANE
ID: 20260106192
PSN: 513036N 0002340W
ELEVATION: 230FT AGL / 330FT AMSL
LIGHTING: RED
REMARKS: BROOK INDUSTRIAL ESTATE, BEACONSFIELD RD, HAYES UB4 0JZ.
CRANE WILL NOT OPERATE IN LOW VIS SAFEGUARDING / LVP.
CRANE WILL OPERATE WITHIN THE AREA BOUNDED BY THE FOLLOWING
COORDINATES:
513033N 0002344W - 513033N 0002337W - 513037N 0002335W -
513038N 0002342W.
UK AIP EGLL **AD** 2.10 REFERS.

A0339/26
CRANES OPR WI 0.1NM RADIUS 513338N 0001633W (WEMBLEY) UP TO 368FT
AGL/471FT AMSL. FOR INFO CTC 07514 492772. ON EXPIRY OF THIS NOTAM
DETAILS WILL BE INCLUDED IN THE UK AIP ENR 5.4 AR-2025-9501/01.

A0241/26
LONDON HEATHROW AERODROME OBSTACLES - NEW CRANE ADDED IN CIRCLING AREA AND AT **AD**
TYPE: CRANE
ID: 20251215117
PSN: 513019N 0002543W
ELEVATION: 358FT AGL / 465FT AMSL
LIGHTING: RED
REMARKS: BLYTH ROAD, HAYES
UK AIP EGLL **AD** 2.10 REFERS.

A0210/26
LONDON HEATHROW AERODROME OBSTACLES - NEW CRANE ADDED IN CIRCLING AREA AND AT **AD**
TYPE: CRANE
ID: 2025121792
PSN: 512807N 0002725W
ELEVATION: 99FT AGL / 177FT AMSL
LIGHTING: RED
REMARKS: HEATHROW AIRPORT TERMINAL 3, AIRCRAFT STAND 305.
CRANE WILL NOT OPR IN LOW VISIBILITY. WILL OPR AT FULL HEIGHT WHEN **RWY 09R/27L** NOT IN USE. WILL OPR AT REDUCED HEIGHT WHEN **RWY** 09R/27L IS IN OPR. UK AIP EGLL **AD** 2.10 REFERS.

A0101/26
HEATHROW FIRE FREQ 121.600MHZ CHANGED TO 8.33KHZ CHANNEL 121.605.
UK AIP EGLL **AD** 2.18, **AD** 2.24 REFERS.

++++++++++++++++++++++++++++ RUNWAY ++++++++++++++++++++++++++++

A0955/26
AIP SUP 062/2025 LONDON HEATHROW (EGLL) - NORTHERN **RWY** (09L/27R) REHABILITATION WORKS - PHASE 4 LIGHTING SERVICES **AVBL** / LIGHTING **OUT OF SERVICE RWY 09L/27R**

A0954/26
RWY 09L/27R ENRTY/EXIT A10W **CLSD**.

A0953/26
AIP SUP 062/2025 - LONDON HEATHROW **RWY 09L/27R** REHABILITATION WORKS. PHASE 4 LIGHTING **OUT OF SERVICE** - REMOVE A7 LEAD OUT (BLUE EDGE ON

A0804/26
RWY 09L/27R MANDATORY SIGN AT A8 ON WESTERN SIDE REMOVED DUE **WIP**.

==========
DESTINATION AIRPORT - DETAILED INFO
==========

LPPT/LIS HUMBERTO DELGADO

++++++++++++++++++++++++++++ AIRPORT ++++++++++++++++++++++++++++

A1406/26
OBST ERECTED. CRANE WITH 28M HEIGHT/131.28M ELEVATION WORKING ON A 10M RADIUS WI THE FOLLOWING COORDINATES: 384646.33N 0090741.63W, 384648.89N 0090739.34W, 384647.49N 0090736.53W AND 384644.88N 0090738.52W. DAY SIGNALISED.

A1416/26
REF AIRAC AIP SUP 037/2026, OBSTACLE ERECTED (ALFRAGIDE), SUPPLEMENT IS HEREBY CANCELLED.

A1412/26
TWY N1 CLSD DUE TO OPERATIONAL REASONS.

A1336/26
REF AIP SUP 044/2025, OBSTACLE ERECTED , NEW ESTIMATED END OF VALIDITY 31 DEC 26.

A1331/26
REF AIP SUP 070/2024, OBSTACLE ERECTED (CRANE - GT1), NEW END OF VALIDITY 31 DEC 26.

A1245/26
CRANE ERECTED AT POSITION 384517N 0090921W (TORRE DO TOMBO), ELEVATION 118M/HEIGHT 36M, OPERATING WI 65M RADIUS.
DAY AND NIGHT SIGNALIZED.

A1259/26
ADVANCED VISUAL DOCKING GUIDANCE SYSTEM (A-VDGS) ON STAND 209 OUT OF SERVICE. MARSHALLER ON SITE FOR ACFT PARKING PROCEDURES.

A1258/26
STOPBAR RET H3 **RWY 02/20** PROTECTION MICROWAVE BARRIER OUT OF SERVICE.

A1061/26
ACFT PARKING INFORMATION SYSTEM (APIS) ON STAND 806 UNSERVICEABLE. MARSHALLER ON SITE FOR ACFT PARKING PROCEDURE.

A1060/26
ADVANCED VISUAL DOCKING GUIDANCE SYSTEM (A-VDGS) ON STAND 804 OUT OF SERVICE. MARSHALLER ON SITE FOR ACFT PARKING PROCEDURES.

A1057/26
ADVANCED VISUAL DOCKING GUIDANCE SYSTEM (A-VDGS) ON STAND 805 **OUT OF SERVICE**. MARSHALLER ON SITE FOR ACFT PARKING PROCEDURES.

A0998/26
REF AIRAC AIP SUP 088/2025, LPPT **AD** - OBSTACLE ERECTED (CRANE), NEW END OF VALIDITY 31 DEC 2026 ESTIMATED.

A0799/26
MILITARY APRON OPEN TO CIVIL AIR TRAFFIC. COMPLYING WITH EU SAFETY AND SECURITY RULES.
NEW AIRCRAFT STAND DESIGNATIONS, COORDINATES AND CRITICAL A/C AS FOLLOWS:
STAND 900 - 384650.7829N 0090753.2008W - F900
STAND 901 - 384650.5377N 0090747.9167W - B762
STAND 902 - 384649.9938N 0090748.3396W - CODE C
STAND 903 - 384652.4173N 0090746.3805W - B762
STAND 904 - 384651.1348N 0090747.3897W - CODE C
STAND 905 - 384652.2800N 0090746.4468W - CODE C
STAND 906 - 384653.5912N 0090745.4714W - C130
FOLLOW-ME GUIDANCE MANDATORY FROM **TWY C** TO PARKING POSITIONS.
STANDS NOT EQUIPPED WITH A-VDGS, GROUND POWER SYSTEM OR **FUEL** PIT.

A0423/26
NDB LAR FREQ 382KHZ UNSERVICEABLE.

A0091/26
CRANE ERECTED AT POSITION 384545.852N 0090919.232W (AVENUE CAMPO GRANDE) OPERATING WI 50M RADIUS. ELEVATION 139M/HEIGHT 52M.
DAY AND NIGHT SIGNALIZED.

A6164/25
CRANE ERECTED AT POSITION 384539.30N 0090928.63W OPERATING WI 60M RADIUS. ELEVATION 135.85M/HEIGHT 57.40M.
DAY AND NIGHT SIGNALIZED.

A6117/25
LPPT **AD** - MAJOR WORKS - EXTENSIONS OF APRON 10 AND NEW APRON 23(PHASE 2A).
REF AIP SUP 083/2024.
TWY M1 RENAMED R1.
TWY M2, BTN T1 AND Q1 RENAMED R2.
TWY M2, BTN Q1 AND M3 RENAMED R3.
THE CURRENT TEMPORARY PARKING AREA 351, WILL BE **CLOSED** AND DELIMITED WITH A FENCE TO PERMIT THAT WORKS GOING INSIDE DO NOT INTERFERE WITH AERODROME OPERATIONS.
MARKINGS RELATED TO OLD INFRASTRUCTURE WILL BE PHYSICALLY REMOVED.
ALL APRON 10 STANDS WILL BE TEMPORARILY REPLACED BY 4 TEMPORARY PARKING POSITIONS - 001, 002, 003 AND 004.
TWY K CLOSED.
NEW TEMPORARY SERVICE ROAD CONNECTING EAST SIDE AND WEST SIDE OF THE AERODROME, PARALLEL **TWY R**.
TEMPORARY STANDS INS CHECKPOINT POSITIONS:
STAND 001 INS COORD 384555.4328N 0090749.8072W, ELEV (M/AMSL) 101, PUSH BACK TO TAXILANE A1
STAND 002 INS COORD 384559.2416N 0090748.2304W, ELEV (M/AMSL) 101, PUSH BACK TO TAXILANE A1
STAND 003 INS COORD 384600.3000N 0090748.4932W, ELEV (M/AMSL) 101, PUSH BACK TO TAXILANE A1
STAND 004 INS COORD 384601.9416N 0090748.9288W, ELEV (M/AMSL) 101, PUSH BACK TO TAXILANE A1
PHASE 2A - EXECUTION OF NEW M1 **TWY** (INSIDE THE FENCE, DOES NOT INTERFERE WITH THE MANEUVERING AREA)
ACTIVITIES: WORK TAKING PLACE WITHIN THE AREA DELIMITED BY FENCE (AREA 2A + 2B).

++++++++++++++++++++++ APPROACH PROCEDURES ++++++++++++++++++++++

A0424/26
DUE TO **NDB** LAR UNSERVICEABLE, THE FOLLOWING INSTRUMENT APPROACH PROCEDURE FOR NON-RNAV EQUIPPED AIRCRAFT ONLY IS TEMPORARILY CHANGED FOR RWY20 IN CASE OF RADIO COMMUNICATIONS FAILURE (RCF) : SQUAWK 7600. CLIMB FL070 STRAIGHT-AHEAD TO INTERCEPT AND PROCEED R357 ESP **DVOR/DME**. AT 7DME ESP **DVOR/DME** TURN LEFT TO INTERCEPT AND PROCEED R065 ESP **DVOR/DME**. AT 27DME ESP **DVOR/DME** TURN LEFT TO INTERCEPT AND PROCEED R188 FTM **DVOR**. AT 41DME FTM **DVOR** TURN LEFT HEADING 305 DEGREES TO INTERCEPT AND PROCEED R053 LIS **DVOR/DME** DESCENDING TO 4000FT. AT 7.6 **DME** LIS **DVOR/DME** PERFORM ANOTHER APPROACH PROCEDURE.

==========
DESTINATION ALTERNATE AIRPORT(S)
==========

LPPR/OPO FRANCISCO SA CARNEIRO

++++++++++++++++++++++++++ AIRPORT ++++++++++++++++++++++++++

A0669/26
MON-FRI 0800-1800
MOBILE CRANE ERECTED BTN FOLLOWING POSITIONS:
411422.862N 0084111.450W - 411422.290N 0084115.416W - 411420.280N 0084110.748W - 411419.675N 0084114.716W
OPERATING WI 56M RADIUS, ELEVATION 60.40/HEIGHT 50M.
DAY AND NIGHT SIGNALIZED.

A0048/26
TWY A3 NOT AVBL TO AIRCRAFT CODE E.
A0047/26
TO MINIMIZE JETBLAST, CODE D AND E AIRCRAFT SHALL MAINTAIN AT LEAST TWO ENGINES OPERATING DURING TURNS INTO STANDS. SINGLE-ENGINE TAXI IS PROHIBITED DURING THIS MANOEUVRE.
A6110/25
MON-SAT 0800-1700
MOBILE CRANE ERECTED BTN FOLLOWING POSITIONS:
411338.13N 0084032.94W 411338.06N 0084032.84W
411338.26N 0084032.23W.
OPERATING WI 16M RADIUS, ELEVATION 63M/HEIGHT 16M.
DAY AND NIGHT SIGNALIZED.

++++++++++++++++++++++++++++ RUNWAY ++++++++++++++++++++++++++++

A6113/25
DEC 29 H24, 30-31 0000-2100, JAN 01-MAR 28 H24 EXC SUN
WORKS ON **RUNWAY** STRIP BETWEEN 75M AND 150M FROM **RWY 17/35** CENTRE LINE.
A6111/25
RWY 17 APCH LIGHTING SYSTEM TEMPORARILY REDUCED TO 450M DUE TO **WIP**.
A6108/25
RWY 17 TDZ LIGHTS **U/S**.
A6109/25
RWY 35 APPROACH LIGHTING SYSTEM TEMPORARILY REDUCED TO 450M DUE TO **WIP**.

==========
EXTENDED AREA AROUND DEPARTURE
==========

EGTT LONDON FIR/UIR

++++++++++++++++++++++++++++ FIR/UIR ++++++++++++++++++++++++++++

B0517/26
SOUTHEND LOWER AIRSPACE RADAR SERVICE **NOT AVBL** SOUTH AND EAST OF SOUTHEND CONTROLLED AIRSPACE DUE REDUCED RADAR COVERAGE.
B0518/26 VALID: 20-MAR-26 0821 - 20-MAR-26 1400
BRIZE NORTON LOWER AIRSPACE RADAR SERVICE **NOT AVBL** DUE STAFFING
H1045/26
0900-1745
CIVIL AIRCRAFT NOTIFICATION PROCEDURE - UNDERSLUNG LOADS WILL OPERATE LOW FLYING AREA 17 WI 2.5NM RADIUS OF PSN 541400N 0015111W, (SCRAFTON, NORTH YORKSHIRE). MAX HEIGHT 250FT AGL. ACFT MAY BE RESTRICTED IN ABILITY TO MANOEUVRE AND UNABLE TO COMPLY WITH RAC OPS CTC 07754 957810. 26/03/129/LFC
F) SFC G) 2100FT AMSL
H1037/26
0830-1730
CIVIL AIRCRAFT NOTIFICATION PROCEDURE -
UNDERSLUNG LOADS WILL OPERATE LOW FLYING AREA 7
WI 2NM EITHER SIDE OF TRACK AND 2NM RADIUS OF PSN 524139N 0035152W AND 524210N 0035310W (LLANFIHANGEL-Y-PENNANT, GWYNEDD)
MAX HEIGHT 500FT AGL. ACFT MAY BE RESTRICTED IN ABILITY TO MANOEUVRE AND UNABLE TO COMPLY WITH RAC. OPS CTC 01767621799.
26/03/126/LFC F) SFC G) 3300FT AMSL

B0245/26
TRIGGER NOTAM - PERM AIRAC AIP AMDT 03/26 WEF 19 MAR 26
MULTIPLE GEN AND ENR CHANGES, SEE COVER SHEET FOR FULL DETAILS
B0506/26
16-28 0800-1700, 29-31 0700-1600
SWANWICK MIL WEST WILL BE OPERATING A REDUCED ATS DUE STAFFING.
CONSIDER CONTACTING THE WEST SUPERVISOR PRIOR TO SORTIE
COMMENCING.
B0505/26
16-28 0800-1700, 29-31 0700-1600
SWANWICK (MIL) EAST WILL BE OPERATING A REDUCED ATS DUE STAFFING.
CONSIDER CONTACTING THE EAST SUPERVISOR PRIOR TO SORTIE
COMMENCING.
B0504/26
16-28 0800-1700, 29-31 0700-1600
SWANWICK (MIL) NORTH WILL BE OPERATING A REDUCED ATS DUE TO
STAFFING. CONSIDER CONTACTING THE NORTH SUPERVISOR PRIOR TO THE
SORTIE COMMENCING.
H0916/26 VALID: 16-MAR-26 0800 - 20-MAR-26 1300
16-19 0800-1700, 20 0800-1300
MULTIPLE FAST JET ACFT WILL OPR FIGHTER CTL TRAINING
NON-SEGREGATED WI 4 AREAS BOUNDED BY:
AREA 1: 510118N 0043133W - 510100N 0055000W - 512100N 0054100W -
514000N 0051900W - 514700N 0045800W - 514600N 0043200W - 510118N
0043133W.
AREA 2: 510118N 0043133W - 502300N 0043200W - 502000N 0051100W -
504400N 0054100W - 510000N 0054800W - 510100N 0055000W - 510118N
0043133W.
AREA 3: 510118N 0043133W - 514600N 0043200W - 513600N 0034300W -
510100N 0033700W - 510118N 0043133W.
AREA 4: 510118N 0043133W - 510100N 0033700W - 502700N 0034300W -
502300N 0043200W - 510118N 0043133W
FOR INFO 01935 452335. AR-2026-1819/01.
F) FL100 G) FL300
B0394/26
WESTERN RADAR ADMIN PHONE NUMBER CHANGED TO 01489-445560.
UK AIP ENR 1.6.4.2.1 RERERS.
B0395/26
FEB 27 0730-1200, MAR 06 20 27 0730-1200, MAR 13 0730-1700
WARTON LOWER AIRSPACE RADAR SERVICE **NOT AVBL**
B0327/26
YEOVILTON LOWER AIRSPACE RADAR SERVICE
AMENDED HOURS OF OPERATION
MON-THU 1000-1600
FRI 0900-1300
B0290/26
SAT SUN 0900-1700
BRIZE NORTON LOWER AIRSPACE RADAR SERVICE **NOT AVBL**
H0379/26
CHANGES TO HLS OPR WI 0.1NM RADIUS 524247N 0023053W (THE PRINCESS
ROYAL HOSPITAL, WELLINGTON). PPR FOR ARRIVING HEL. NO APCH FROM
THE NORTH DUE TO **WIP** IN THE VCY. APCH ON HDG 250/050 ONLY. FOR
INFO 01952 641222 4229 / 01952 641222 4253. AR-2026-749/02.
B0185/26
PLYMOUTH MIL (EAST) LOWER AIRSPACE RADAR SERVICE (LARS)
FREQ 124.150MHZ CHANGED TO 8.33KHZ CHANNEL 124.155
UK AIP ENR 1.6, ENR 1.8, ENR 5.1, ENR 5.2, ENR 6 REFERS

++++++++++++++++++++++ RESTRICTED AIRSPACE ++++++++++++++++++++++

D1096/26 VALID: 20-MAR-26 1400 - 20-MAR-26 1415
DANGER AREA EGD009A WEMBURY **ACTIVATED**
F) SFC G) 20000FT AMSL
H0996/26 VALID: 20-MAR-26 1230 - 20-MAR-26 1250
MODEL ROCKET FIRING WI 1NM RADIUS OF 532146N 0000044W (LOUTH). FOR INFO 074493 13378. AR-2026-1953/01.
F) SFC G) 1100FT AMSL
H1181/26 VALID: 20-MAR-26 1115 - 20-MAR-26 1430
AIR TO AIR REFUELLING WILL TAKE PLACE IN THE FOLLOWING AREAS: AREA 10W 1115-1430 FL200-FL230
F) FL200 G) FL230
H1171/26 VALID: 20-MAR-26 1100 - 20-MAR-26 1200
UAS OPR WI 0.02NM RADIUS OF 525928N 0021213W (OAK HILL, NEWCASTLE UNDER LYME). MAX HGT 99FT AGL. FOR INFO 07826598996. AR-2026-2193/01. F) SFC G) 500FT AMSL
H1081/26
1030-1500
UAS OPR BEYOND VISUAL LINE OF SIGHT (BVLOS) UTILISING VISUAL OBSERVERS (EXTENDED LINE OF SIGHT) WI AREA BOUNDED BY 502053N 0044213W - 502055N 0044200W - 502056N 0044147W - 502055N 0044133W - 502055N 0044122W - 502037N 0044118W - 502028N 0044117W - 502016N 0044118W - 502016N 0044151W - 502020N 0044213W - 502030N 0044206W - 502040N 0044201W - 502048N 0044210W - 502053N 0044213W (OFFSHORE PAR TO POLKERRIS). MAX HGT 197FT AGL. FOR INFO 07790 997405. AR-2026-2107/01.
F) SFC G) 300FT AMSL
H0868/26
1000-1600
MODEL ROCKET FIRING WI 1NM RADIUS OF 532453N 0023428W (FEARNHEAD, WARRINGTON). LAUNCH SUBJ ATC CLR. FOR INFO 07985 624458. AR-2026-1738/01.
F) SFC G) 300FT AMSL
D1026/26
DANGER AREA EGD324A WADDINGTON LOW **ACTIVATED**
F) SFC G) FL105
D1117/26 VALID: 20-MAR-26 0830 - 20-MAR-26 1400
DANGER AREA EGD005A PREDANNACK **ACTIVATED**
F) SFC G) 3500FT AMSL
D1118/26 VALID: 20-MAR-26 0830 - 20-MAR-26 1400
DANGER AREA EGD005B PREDANNACK CORRIDOR **ACTIVATED**
F) SFC G) 2000FT AMSL
H1178/26
PILOTS ARE REQUESTED NOT TO OVERFLY FILMING WI 0.5NM RADIUS OF 513943N 0001457W (ARKLEY). AIRCRAFT ON STRAIGHT IN APPROACH TO ELSTRE **RWY 26** ARE EXEMPT FROM THIS REQUEST. FOR INFO 07476 086866 / 07850 772332. AR-2026-1981/01.
F) SFC G) 2000FT AMSL
H1193/26
SR-SS
CIVIL AIRCRAFT NOTIFICATION PROCEDURE - MULTIPLE PARAGLIDERS OPERATING IN LOW FLYING AREA 18 WI 2NM RADIUS OF PSN 504908N 0000741E (BO PEEP,EAST SUSSEX). 2000FT AGL. CTC 07917 108858. 26/03/205/LFC
F) SFC G) 2600FT AMSL

H1191/26
CIVIL AIRCRAFT NOTIFICATION PROCEDURE - MULTIPLE PARAGLIDERS OPERATING IN LOW FLYING AREA 18 WI 2 NM RADIUS OF PSN 504723N 0000827E (SEAFORD, EAST SUSSEX). 2000FT AGL. CTC 07917 108858. 26/03/203/LFC
F) SFC G) 2700FT AMSL

H1190/26
CIVIL AIRCRAFT NOTIFICATION PROCEDURE - MULTIPLE PARAGLIDERS OPR IN LOW FLYING AREA 7 WI 2NM RADIUS OF PSN 515447N 0025929W (PANDY, MONMOUTHSHIRE). 2000FT AGL. CTC 07780 973400. 26/03/202/LFC
F) SFC G) 3900FT AMSL

H1104/26
0700-2259
AN EQUESTRIAN EVENT WILL TAKE PLACE IN LOW FLYING AREA 11 AND NIGHT SECTORS 3A, 4BW, WASH AND DONNA NOOK TRANSIT AREA WI 2NM RADIUS OF PSN 531715N 0003325W (NORTH CARLTON, LINCOLNSHIRE) MILITARY ACFT SHALL AVOID THE AREA FROM SURFACE TO 2000FT AGL. EVENT CTC 01964 553087. 26/03/134/LFC
F) SFC G) 2300FT AMSL

H1115/26
0700-1900
CIVIL AIRCRAFT NOTIFICATION PROCEDURE - MULTIPLE PARAGLIDERS OPR IN LOW FLYING AREA 2 AND NIGHT ROTARTY REGION 2 WI 2NM RADIUS OF PSN 510937N 0023200W (EVERCREECH, SOMERSET). 2000FT AGL. CTC 07599 844678. 26/03/165/LFC
F) SFC G) 2800FT AMSL

H1170/26
SR-SS
CIVIL AIRCRAFT NOTIFICATION PROCEDURE - MULTIPLE PARAGLIDERS OPR IN LOW FLYING AREA 17 WI 2NM RADIUS OF PSN 542624N 0021813W (TAILBRIDGE, CUMBRIA). 2000FT AGL. CTC 07785 523377. 26/03/194/LFC
F) SFC G) 4500FT AMSL

H1100/26
SR-SS
CIVIL AIRCRAFT NOTIFICATION PROCEDURE - MULTIPLE PARAGLIDERS OPR IN LOW FLYING AREA 7 WI 2NM RADIUS OF PSN 515322N 0033451W (HEOL SENNI, POWYS). 2000FT AGL. CTC 07575 280508. 26/03/162/LFBC
F) SFC G) 4100FT AMSL

H1149/26
SR-SS
CIVIL AIRCRAFT NOTIFICATION PROCEDURE - MULTIPLE PARAGLIDERS OPERATING IN LOW FLYING AREA 1B WI 2NM RADIUS OF PSN 505845N 0010431W (WHITEWOOL, HAMPSHIRE). 2000FT AGL. CTC 07771 617201. 26/03/188/LFC
F) SFC G) 2900FT AMSL

H1103/26
CIVIL AIRCRAFT NOTIFICATION PROCEDURE - MULTIPLE PARAGLIDERS OPR IN LOW FLYING AREA 5 WI 2NM RADIUS OF PSN 524849N 0000652E (LUTTON, LINCOLNSHIRE). 2000FT AGL. CTC 07949 752435. 26/03/164/LFC F) SFC G) 2100FT AMSL

H1111/26
CIVIL AIRCRAFT NOTIFICATION PROCEDURE - MULTIPLE PARAGLIDERS OPERATING IN LOW FLYING AREA 5 WI 2NM RADIUS OF PSN 524128N 0004846E (FRANSHAM, NORFOLK). 2000FT AGL. CTC 07857 147407. 26/03/169/LFC F) SFC G) 2500FT AMSL

H1121/26
CIVIL AIRCRAFT NOTIFICATION PROCEDURE - MULTIPLE PARAGLIDERS OPR IN LOW FLYING AREA 9 WI 2NM RADIUS OF PSN 530107N 0022733W (HATHERTON, CHESHIRE). 2000FT AGL. CTC 07301 090227. 26/03/175/LFC
F) SFC G) 3800FT AMSL

H1173/26
CIVIL AIRCRAFT NOTIFICATION PROCEDURE - MULTIPLE PARAGLIDERS OPR IN LOW FLYING AREA 17 WI 2NM RADIUS OF PSN 544253N 0031335W (BEWALDETH, CUMBRIA). 2000FT AGL. CTC 07830 281986. 26/03/195/LFC
F) SFC G) 3600FT AMSL

H1179/26
CIVIL AIRCRAFT NOTIFICATION PROCEDURE - MULTIPLE PARAGLIDERS OPERATING IN LOW FLYING AREA 17 WI 2NM RADIUS OF PSN 542247N 0023348W (WHITESTONES, SEDBERGH, CUMBRIA). 2000FT AGL. CTC 07785 523377. 26/03/197/LFC
F) SFC G) 4300FT AMSL

H1180/26 VALID: 20-MAR-26 0600 - 20-MAR-26 1600
PIPELINE INSPECTION NOTIFICATION PROCEDURE SYSTEM (PINS) WILL TAKE PLACE IN THE FOLLOWING LOW FLYING AREAS - 1, 2, 3, 4, 5, 6, 7N, 7S, 8, 9, 10, 11N, 11S, 12, 18, 19, THAMES VALLEY AVOIDANCE AREA MAX HEIGHT 2000FT AGL. UK AIP ENR 6 (PINS AREAS AND UK DAY LOW FLYING SYSTEM (DLFS)) REFERS. 26/03/198/LFC
F) SFC G) 6500FT AMSL

H1186/26
CIVIL AIRCRAFT NOTIFICATION PROCEDURE - MULTIPLE PARAGLIDERS OPR IN LOW FLYING AREA 17 WI 2NM RADIUS OF PSN 543739N 0030706W (JENKIN HILL, CUMBRIA). 2000FT AGL. CTC 07786 930505. 26/03/201/LFC
F) SFC G) 5100FT AMSL

H1032/26
1815-2000
PJE WI 1.5NM RADIUS OF 525326N 0005421W (LANGAR). DROP HGT SUBJ ATC CLR. FOR INFO 01949 860878. AR-2026-2000/01.
F) SFC G) FL150

H0901/26
1200-2359
UAS SWARM OPR WI 0.3NM RADIUS OF 540709N 0013753W (GRANTLEY). SWARM MADE UP OF 300 UAS. MAX HGT 500FT AGL. FOR INFO 07970 017256. AR-2026-1771/01.
F) SFC G) 1100FT AMSL

H1082/26
1030-1500
UAS OPR BEYOND VISUAL LINE OF SIGHT (BVLOS) UTILISING VISUAL OBSERVERS (EXTENDED LINE OF SIGHT) WI AREA BOUNDED BY 505015N 0043336W - 505015N 0043319W - 505014N 0043307W - 505008N 0043304W - 505003N 0043304W - 504955N 0043259W - 504952N 0043253W - 504947N 0043248W - 504940N 0043257W - 504941N 0043310W - 504941N 0043337W - 505015N 0043336W (OFFSHORE BUDE HAVEN). MAX HGT 70FT AGL. FOR INFO 07790 997405. AR-2026-2105/02.
F) SFC G) 200FT AMSL

H1134/26
0900-1830
CIVIL AIRCRAFT NOTIFICATION PROCEDURE - MULTIPLE PARAGLIDERS OPR IN LOW FLYING AREA 11 WI 2NM RADIUS OF PSN 533912N 0010537W (BALNE, NORTH YORKSHIRE). 2000FT AGL. CTC 07713477069. 26/03/177/LFC
F) SFC G) 2100FT AMSL

D0820/26
19 20 22 0830-1600
DANGER AREA EGD132 ASH RANGES **ACTIVATED**
F) SFC G) 1100FT AMSL

J0294/26
RESTRICTED AREA (TEMPORARY) **ACTIVE** FOR UAS ONLY (CANTERBURY)
WI 1NM RADIUS OF PSN 511648N 0010500E DOES NOT APPLY TO ANY UAS
FLYING IN ACCORDANCE WITH EXCEPTIONS STATED IN THE AIC.
AIC M 007/2026 REFERS. FURTHER DETAILS WWW.NATS.AERO/AIS.
RESTRICTION OF FLYING REGULATIONS MADE UNDER ARTICLE 239 OF AIR
NAV ORDER 2016. AR-2025-9879/01.
F) SFC G) 1200FT AMSL

H0990/26 VALID: 18-MAR-26 1100 - 20-MAR-26 1330
1100-1330
EXER. MULTIPLE MIL FAST JETS WILL OPR AND CONDUCT HIGH ENERGY
MANOEVRES WI 15NM RADIUS OF 540809N 0004734W (MALTON). ACFT MAY BE
UNABLE TO COMPLY WITH RAC. FOR INFO 01343 811446. AR-2026-1971/01.
F) SFC G) FL100

V0013/26
SECURITY - HAZARDOUS SITUATION IN AFGHANISTAN. UK REGISTERED AIR
OPERATORS ARE ADVISED TO TAKE POTENTIAL RISK INTO ACCOUNT WITHIN
FIR KABUL (OAKX). POTENTIAL RISK FROM HEIGHTENED MILITARY
ACTIVITY. AR-2026-1616/01.
F) SFC G) UNL

H0236/26 VALID: 17-MAR-26 1100 - 20-MAR-26 1300
1100-1300
EXER COBRA WARRIOR 26-1. UP TO 10 MIL ACFT, INCLUDING FAST JETS,
WILL CONDUCT HIGH ENERGY MANOEVRES WI AREA BOUNDED BY:
542235N 0013157W - 541910N 0014342W - 541129N 0013630W -
535745N 0001916W - 541339N 0001133W (RAF LEEMING) . ACFT MAY BE
UNABLE TO COMPLY WITH RAC. FOR INFO 03033 782679. AR-2026-429/01.
F) SFC G) FL245

H0483/26 VALID: 17-MAR-26 1100 - 20-MAR-26 1300
1100-1300
MIL EXER. A FORMATION OF UP TO 4 MIL ACFT WILL OPR WITH
IDENTIFICATION FRIEND OR FOE OFF WI AREA BOUNDED BY STRAIGHT LINES
JOINING: 564600N 0021000W - 561500N 0004000E -
560600N 0010500E - 544500N 0000500E - 560000N 0020000W -
561000N 0023000W - 564600N 0021000W (NORTH SEA). ACFT MAY BE
UNABLE TO COMPLY WITH RAC. FOR INFO 03033 727279. AR-2026-1026/01.
F) SFC G) 2000FT AMSL

H0980/26
1000-1330
EX COBRA WARRIOR 26-1. UP TO 60 MIL ACFT OPR IN MIXED FORMATIONS
WI AREA BOUNDED BY 564944N 0023059W - 561522N 0003908E -
554828N 0020148E - 542337N 0012225E - 550310N 0010229W -
550419N 0010503W THENCE ANTI-CLOCKWISE BY THE ARC OF A CIRCLE
RADIUS 21NM CENTRED ON 550217N 0014123W TO 551920N 0012007W -
551610N 0013433W - 551426N 0014100W - 551403N 0014229W -
552952N 0023047W - 553928N 0024212W - 560122N 0023945W -
561317N 0025226W - 563754N 0024601W - 564944N 0023059W
(EGD514 COMBAT AIRSPACE, NORTH SEA). ACFT MAY BE UNABLE TO COMPLY
WITH RAC. AIC Y012/2026 REFERS. FOR INFO 03033 727279.
AR-2026-1898/01.
F) SFC G) UNL

H0983/26
0900-1500
UAS OPR WI AREA BOUNDED BY 543739N 0010850W - 543739N 0010842W -
543737N 0010831W - 543729N 0010837W - 543732N 0010852W -
543739N 0010850W (REDCAR, NORTH YORKSHIRE). MAX HGT 197FT AGL. FOR
INFO 07739 256462. AR-2026-1949/01.
F) SFC G) 300FT AMSL

D1042/26
17-19 0830-2359, 20 0830-1730
DANGERS AREA EGD011C MERRIVALE **ACTIVATED**
F) SFC G) 10000FT AMSL

H0944/26
MAR 17-28 0800-2000, MAR 29-JUN 14 0700-1900
FLYING OF LARGE MODEL ACFT WI 0.55NM RADIUS OF 522203N 0012346W (WOLSTON). FOR INFO 075196 65738. AR-2026-1858/01.
F) SFC G) 1900FT AMSL

H1031/26
MAR 17 - 28 0800-2100, MAR 29 - JUN 12 0700-2000
FLYING OF LARGE MODEL ACFT WI 0.5NM RADIUS OF 520800N 0010843W (MORETON PINKNEY). FOR INFO 07746 169314 OR 07973 134141. AR-2026-2004/01.
F) SFC G) 2100FT AMSL

H0975/26
SR-SS
UAS OPR BEYOND VISUAL LINE OF SIGHT (BVLOS) WI AREA BOUNDED BY 532640N 0014701W - 532605N 0015104W - 532604N 0015202W - 532636N 0015110W - 532657N 0015113W - 532716N 0015119W - 532755N 0015110W - 532804N 0014856W - 532742N 0014705W - 532640N 0014701W (RIVER ALPORT). TYPICAL UAS OPR MAX HGT 50FT AGL. FOR INFO 07725 002795 / 07940 383535. AR-2026-1932/01.
F) SFC G) 2200FT AMSL

H1054/26
0600-2300
DROPPING OF ARTICLES WI 3NM RADIUS OF 525111N 0004648E (SCULTHORPE). FOR INFO 01638 545012. AR-2026-2045/01.
F) SFC G) 2300FT AMSL

H1056/26
E BAND HIGH INTENSITY RADIO TRANSMISSION AREA (HIRTA) IN LOW FLYING AREA 17 AND NIGHT SECTOR 3BE WI 1NM RADIUS OF PSN 542114N 0014704W, (BARDEN, NORTH YORKSHIRE) MAX HEIGHT 400FT AGL. 26/03/133/LFC
SAFE DISTANCES

CIVILIAN ACFT	0.3851NM	150FT AGL
MIL ACFT SUSCEPTIBILITY		
VERY LOW	0.3672NM	39FT AGL
LOW	0.3859NM	153FT AGL
MEDIUM	0.3967NM	219FT AGL
HIGH	0.4263NM	398FT AGL
PULSE LOW	0.3672NM	39FT AGL
PULSE MEDIUM	0.3672NM	39FT AGL
PULSE HIGH	0.3881NM	167FT AGL

F) SFC G) 1300FT AMSL

H1057/26
E BAND HIGH INTENSITY RADIO TRANSMISSION AREA (HIRTA) IN LOW FLYING AREA 11 AND NIGHT SECTOR 3A, 3BW AND 4BW WI 1NM RADIUS OF PSN 540253N 0011448W, (LINTON-ON-OUSE, NORTH YORKSHIRE). MAX HEIGHT 400FT AGL. 26/03/132/LFC
SAFE DISTANCES

CIVILIAN ACFT	0.0721NM	150FT AGL
MIL ACFT SUSCEPTIBILITY		
VERY LOW	0.0540NM	39FT AGL
LOW	0.0727NM	153FT AGL
MEDIUM	0.0835NM	219FT AGL
HIGH	0.1131NM	398FT AGL
PULSE LOW	0.0540NM	39FT AGL
PULSE MEDIUM	0.0540NM	39FT AGL
PULSE HIGH	0.0749NM	167FT AGL

F) SFC G) 500FT AMSL

H0941/26
1800-2200
ILLUMINANTS WI 0.54NM RADIUS OF 540918N 0013439W (SUTTON GRANGE). ILLUMINANTS WILL DESCEND BY PARACHUTE. FOR INFO 07783 505097 OR 07783 216227. AR-2026-1862/01.
F) SFC G) 1400FT AMSL

J0568/26
16 1315-2000, 17-20 0800-2000
TEMPO **DANGER** AREA (TDA) EGD188 INSTALLED WI 1.3NM RADIUS OF 512632N 0002409E (GRAVESEND, KENT). BEYOND VISUAL LINE OF SIGHT UAS OPERATIONS CONTAINED WHOLLY WI THE TDA. MAX HGT 400FT AGL. FOR INFO 07469 908009. AR-2025-7289/08.
F) SFC G) 700FT AMSL

D1053/26
MON WED 0900-1700, TUE THU 0900-2200, FRI 0900-1200
DANGER AREA EGD207 HOLBEACH DEACTIVATED DUE ESSENTIAL RANGE MAINT
F) SFC G) 23000FT AMSL

H0722/26
1000-2359
MIL EXER. UP TO 8 MIL ACFT WILL CONDUCT HIGH ENERGY MANOEVRES WI AREA BOUNDED BY STRAIGHT LINES JOINING
521149N 0005014E - 523900N 0015002E - 525500N 0015002E - 524006N 0023007E - 523656N 0025403E - 515215N 0021713E - 515223N 0012635E - 515858N 0012257E - 515919N 0004748E - 521149N 0005014E (OFF SHORE). ACFT MAY BE UNABLE TO COMPLY WITH RAC. FOR INFO 07867 143256. AR-2026-700/03.
F) SFC G) 2000FT AMSL

H0985/26 VALID: 16-MAR-26 0900 - 20-MAR-26 1400
0900-1400
MET BALLOON RELEASE/S WI 1NM RADIUS OF 530058N 0014431W (ASHBOURNE). THIS ACTIVITY WILL NOT BE WHOLLY CONTAINED WI LATERAL DIMENSION AS NOTIFIED. ASSOCIATED EQPT WILL SUBSEQUENTLY DESCEND BY PARACHUTE. FOR INFO 01142 131050. AR-2025-6626/24.
F) SFC G) UNL

H0986/26 VALID: 16-MAR-26 0900 - 20-MAR-26 1400
0900-1400
MET BALLOON RELEASE/S WI 1NM RADIUS OF 525611N 0030519W (WREXHAM). THIS ACTIVITY WILL NOT BE WHOLLY CONTAINED WI LATERAL DIMENSION AS NOTIFIED. ASSOCIATED EQUIPMENT WILL SUBSEQUENTLY DESCEND BY PARACHUTE. FOR INFO 01142 131050. AR-2025-6624/22.
F) SFC G) UNL

H0987/26 VALID: 16-MAR-26 0900 - 20-MAR-26 1400
0900-1400
MET BALLOON RELEASE/S WI 1NM RADIUS OF 532322N 0012610W (SHEFFIELD). THIS ACTIVITY WILL NOT BE WHOLLY CONTAINED WI LATERAL DIMENSION AS NOTIFIED. ASSOCIATED EQUIPMENT WILL SUBSEQUENTLY DESCEND BY PARACHUTE. FOR INFO 0114 213 1050. AR-2025-5247/28.
F) SFC G) UNL

H0988/26 VALID: 16-MAR-26 0900 - 20-MAR-26 1400
0900-1400
MET BALLOON RELEASE/S WI 1NM RADIUS OF 532327N 0013910W (SHEFFIELD). THIS ACTIVITY WILL NOT BE WHOLLY CONTAINED WI LATERAL DIMENSION AS NOTIFIED. ASSOCIATED EQUIPMENT WILL SUBSEQUENTLY DESCEND BY PARACHUTE. FOR INFO 0114 213 1050. AR-2025-5249/26.
F) SFC G) UNL

H0640/26
0900-1645
UAS OPR WI AREA BOUNDED BY STRAIGHT LINES JOINING
511932N 0010353W - 511859N 0010241W - 511826N 0010245W -
511907N 0010354W - 511918N 0010354W - 511930N 0010354W -
511932N 0010353W (SHERFIELD ON LODDON). MAX HGT 400FT AGL. FOR
INFO 07307 356200 / 07563 800818. AR-2026-1287/04.
F) SFC G) 700FT AMSL

H0793/26
MAR 16-28 0900-1800, MAR 29-JUN 08 0800-1700
FLYING OF LARGE MODEL ACFT WI 0.3NM RADIUS OF 511327N 0000111W
(OXTED). FOR INFO 07966439835. AR-2026-1583/01.
F) SFC G) 1800FT AMSL

D1005/26
16-19 21-24 26 0830-1700
DANGER AREA EGD410 STRENSALL **ACTIVATED**
F) SFC G) 1000FT AMSL

D1041/26
16 0830-2359, 17-20 0830-1730
DANGER AREA EGD011B WILLSWORTHY **ACTIVATED**
F) SFC G) 4500FT AMSL

D0821/26
16-18 21 0830-1600
DANGER AREA EGD132 ASH RANGES **ACTIVATED**
F) SFC G) 850FT AMSL

J0528/26
0000-1900
TEMPO **DANGER** AREA (TDA) EGD098B **ACTIVATED** WI AN AREA BOUNDED BY
504703N 0005208E - 505315N 0010128E - 504948N 0011548E -
504139N 0011414E - 503926N 0010808E - 504703N 0005208E (ENGLISH
CHANNEL). BEYOND VISUAL LINE OF SIGHT UAS OPS CONTAINED WHOLLY WI
THE TDA. A SPECIAL USE AIRSPACE ACTIVITY INFORMATION SERVICE
(SUAAIS) WILL BE **AVBL** FM EITHER LONDON INFO ON FREQ 124.600MHZ
(OPR H24) OR FM LYDD ATC ON CH 120.705 LYDD APPROACH DURING THE HR
OF WATCH. AIC Y 019/2026 REFERS. AR-2023-11556.
F) SFC G) 1500FT AMSL

J0531/26
0000-1900
TEMPO **DANGER** AREA (TDA) EGD098D **ACTIVATED** WI AN AREA BOUNDED BY
505315N 0010128E - 510149N 0011316E - 510635N 0012927E -
510336N 0013547E - 510227N 0013230E - 505659N 0012114E -
505345N 0011650E - 504948N 0011548E - 505315N 0010128E (ENGLISH
CHANNEL). BEYOND VISUAL LINE OF SIGHT UAS OPS CONTAINED WHOLLY WI
THE TDA. A SPECIAL USE AIRSPACE ACTIVITY INFORMATION SERVICE
(SUAAIS) WILL BE **AVBL** FM EITHER LONDON INFO ON FREQ 124.600MHZ
(OPR H24) OR FM LYDD ATC ON CH 120.705 LYDD APPROACH DURING THE HR
OF WATCH. AIC Y 019/2026 REFERS. AR-2023-11556.
F) SFC G) 1500FT AMSL

J0530/26
0000-1900
TEMPO **DANGER** AREA (TDA) EGD098A **ACTIVATED** WI AN AREA BOUNDED BY
504815N 0004937E - 505359N 0005825E - 505315N 0010128E -
504703N 0005208E - 504815N 0004937E (ENGLISH CHANNEL). BEYOND
VISUAL LINE OF SIGHT UAS OPS CONTAINED WHOLLY WI THE TDA. A
SPECIAL USE AIRSPACE ACTIVITY INFORMATION SERVICE (SUAAIS) WILL BE
AVBL FM EITHER LONDON INFO ON FREQ 124.600MHZ (OPR H24) OR FM LYDD
ATC ON CH 120.705 LYDD APPROACH DURING THE HR OF WATCH. AIC Y
019/2026 REFERS. AR-2023-11556.
F) SFC G) 1500FT AMSL

J0529/26
0000-1900
TEMPO **DANGER** AREA (TDA) EGD098C **ACTIVATED** WI AN AREA BOUNDED BY 505359N 0005825E - 510326N 0011118E - 510756N 0012635E - 510635N 0012927E - 510149N 0011316E - 505315N 0010128E - 505359N 0005825E (ENGLISH CHANNEL). BEYOND VISUAL LINE OF SIGHT UAS OPS CONTAINED WHOLLY WI THE TDA. A SPECIAL USE AIRSPACE ACTIVITY INFORMATION SERVICE (SUAAIS) WILL BE **AVBL** FM EITHER LONDON INFO ON FREQ 124.600MHZ (OPR H24) OR FM LYDD ATC ON CH 120.705 LYDD APPROACH DURING THE HR OF WATCH. AIC Y 019/2026 REFERS. AR-2023-11556.
F) SFC G) 1500FT AMSL

J0532/26
0000-1900
TEMPO **DANGER** AREA (TDA) EGD098F ESTABLISHED WI AN AREA BOUNDED BY 510341N 0010445E - 510359N 0010700E - 510414N 0011100E - 510537N 0011311E - 510612N 0011652E THENCE THE ANTICLOCKWISE ARC OF A CIRCLE OF RADIUS OF 2.25 NM CENTRED ON 510800N 0011900E BETWEEN 510612N 0011652E - 510546N 0011912E - 510326N 0011118E - 505829N 0010432E - 510120N 0010148E - 510212N 0010531E - 510341N 0010445E(ENGLISH CHANNEL). BEYOND VISUAL LINE OF SIGHT UAS OPS CONTAINED WHOLLY WI THE TDA. A SPECIAL USE AIRSPACE ACTIVITY INFORMATION SERVICE (SUAAIS) WILL BE **AVBL** FM EITHER LONDON INFO ON FREQ 124.600MHZ (OPR H24) OR FM LYDD ATC ON CH 120.705 LYDD APPROACH DURING THE HR OF WATCH. AIC Y 019/2026 REFERS. AR-2023-11556.
F) SFC G) 800FT AMSL

J0533/26
0000-1900
TEMPO **DANGER** AREA (TDA) EGD098E **ACTIVATED** WI AN AREA BOUNDED BY 510756N 0012635E - 511454N 0013137E - 512251N 0013322E - 511740N 0015439E - 511447N 0020000E - 511153N 0015200E - 510607N 0014309E - 510336N 0013547E - 510756N 0012635E (ENGLISH CHANNEL).BEYOND VISUAL LINE OF SIGHT UAS OPS CONTAINED WHOLLY WI THE TDA. A SPECIAL USE AIRSPACE ACTIVITY INFORMATION SERVICE (SUAAIS) WILL BE **AVBL** FM EITHER LONDON INFO ON FREQ 124.600MHZ (OPR H24) OR FM LYDD ATC ON CH 120.705 LYDD APPROACH DURING THE HR OF WATCH. AIC Y 019/2026 REFERS. AR-2023-11556.
F) SFC G) 2500FT AMSL

J0534/26
0000-1900
TEMPO **DANGER** AREA (TDA) EGD098G **ACTIVATED** WI AN AREA BOUNDED BY 504118N 0002647E - 504815N 0004937E - 503926N 0010808E - 503300N 0005110E - 504118N 0002647E (ENGLISH CHANNEL). BEYOND VISUALLINE OF SIGHT UAS OPS CONTAINED WHOLLY WI THE TDA. A SPECIAL USE AIRSPACE ACTIVITY INFORMATION SERVICE (SUAAIS) WILL BE **AVBL** FM EITHER LONDON INFO ON FREQ 124.600MHZ (OPR H24) OR FM LYDD ATC ON CH 120.705 LYDD APPROACH DURING THE HR OF WATCH. AIC Y 019/2026 REFERS. AR-2023-11556.
F) SFC G) 2000FT AMSL

J0535/26
0000-1900
TEMPO **DANGER** AREA (TDA) EGD098H **ACTIVATED** WI AN AREA BOUNDED BY STRAIGHT LINES JOINING 510831N 0012227E - 510756N 0012635E - 510629N 0012136E THENCE THE ANTICLOCKWISE ARC OF A CIRCLE RADIUS OF 2.25NM CENTRED ON 510800N 0011900E BTN 510629N 0012136E - 510831N 0012227E (PORT OF DOVER). BEYOND VISUAL LINE OF SIGHT UAS OPS CONTAINED WHOLLY WI THE TDA. A SPECIAL USE AIRSPACE ACTIVITY INFORMATION SERVICE (SUAAIS) WILL BE **AVBL** FM EITHER LONDON INFO ON FREQ 124.600MHZ (OPR H24) OR FM LYDD ATC ON CH 120.705 LYDD APPROACH DURING THE HR OF WATCH. AIC Y 019/2026 REFERS. AR-2023-11556.
F) SFC G) 800FT AMSL

J0537/26
0000-1900
TEMPO **DANGER** AREA (TDA) EGD098L **ACTIVATED** WI AN AREA BOUNDED BY 510845N 0012007E - 510831N 0012227E THEN THE CLOCKWISE ARC OF A CIRCLE OF RADIUS 2.25NM CENTRED ON 510800N 0011900E TO 510629N 0012136E - 510751N 0012036E - 510757N 0012004E - 510845N 0012007E (PORT OF DOVER, ENGLISH CHANNEL). BEYOND VISUAL LINE OF SIGHT UAS OPS CONTAINED WHOLLY WI THE TDA. A SPECIAL USE AIRSPACE ACTIVITY INFORMATION SERVICE (SUAAIS) WILL BE **AVBL** FM EITHER LONDON INFO ON FREQ 124.600MHZ (OPR H24) OR FM LYDD ATC ON CH 120.705 LYDD APPROACH DURING THE HR OF WATCH. AIC Y 019/2026 REFERS. AR-2023-11556.
F) SFC G) 900FT AMSL

H0961/26
MAR 14 - MAR 28 0900-2100, MAR 29 - JUN 10 0800-2000
FLYING OF LARGE MODEL ACFT WI 0.5NM RADIUS OF 531742N 0033004W (GYPSY LANE). FOR INFO 07876 597863. AR-2026-1916/01.
F) SFC G) 1600FT AMSL

J0536/26
RESTRICTED AREA (TEMPORARY) INSTALLED FOR UAS ONLY (WHITFIELD) WI AREA BOUNDED BY: 510856N 0011641E - 510907N 0011655E - 510912N 0011707E - 510910N 0011724E - 510904N 0011734E - 510855N 0011736E - 510852N 0011732E - 510845N 0011735E - 510838N 0011730E - 510831N 0011707E - 510831N 0011658E - 510842N 0011641E - 510849N 0011638E - 510856N 0011641E.
DOES NOT APPLY TO ANY UAS OPERATED BY OR ON BEHALF OF A POLICE AIR SUPPORT UNIT, AN EMERGENCY MEDICAL SERVICE, THE MARITIME AND COASTGUARD AGENCY OR ANY UAS FLYING IN ACCORDANCE WITH A PERMISION ISSUED BY BORDER FORCE CTC EMAIL: SECMANKENT(AT)HOMEOFFICE.GOV.UK.
RESTRICTION OF FLYING REGULATIONS MADE UNDER ARTICLE 239 OF THE AIR NAV ORDER 2016.
ON EXPIRY OF THIS NOTAM DETAILS WILL BE INCLUDED IN THE UK AIP ENR 5.1. AR-2025-9694/03.
F) SFC G) 1000FT AMSL

H0831/26
1830-2130
UAS SWARM OPR WI 0.1NM RADIUS OF 504650N 0004032W (BOGNOR REGIS). SWARM MADE UP OF 60 UAS. MAX HGT 600FT AGL. FOR INFO 01243908031. AR-2026-1653/01.
F) SFC G) 700FT AMSL

H0898/26
MAR 09 - 28 1000-2359, MAR 29 - JUN 06 0900-2259
UAS SWARM OPR WI 0.5NM RADIUS OF 522125N 0010447W (WINWICK). SWARM MADE UP OF 500 UAS. MAX HGT 600FT AGL. FOR INFO 07970 017256. AR-2026-1769/01.
F) SFC G) 1200FT AMSL

H0902/26
MAR 09-28 0800-1700, MAR 29-31 0700-1600
UAS OPR WI AREA BOUNDED BY
545713N 0013324W - 545720N 0013146W - 545659N 0013039W -
545459N 0012943W - 545420N 0012932W - 545341N 0012945W -
545320N 0013002W - 545314N 0012943W - 545349N 0012842W -
545426N 0012703W - 545443N 0012618W - 545427N 0012550W -
545347N 0012652W - 545305N 0012817W - 545223N 0012919W -
545205N 0012943W - 545150N 0013006W - 545214N 0013109W -
545248N 0013022W - 545259N 0013057W - 545327N 0013103W -
545421N 0013044W - 545516N 0013059W - 545619N 0013131W -
545642N 0013203W - 545643N 0013324W - 545713N 0013324W
(PELAW TO PENSHAW). MAX HGT 361FT AGL.
FOR INFO 07301 528940 OR 01914 913444. AR-2026-1782/01.
F) SFC G) 900FT AMSL

H0850/26
MAR 06-28 1200-2300, MAR 29-APR 06 1100-2200
UAS SWARM OPR WI 1NM RADIUS OF 504109N 0011422W (DOWNEND). SWARM
MADE UP OF 160 UAS. MAX HGT 601FT AGL. FOR INFO 07919 578177.
AR-2026-1700/01.
F) SFC G) 1100FT AMSL

H0879/26
UAS OPR BEYOND VISUAL LINE OF SIGHT (BVLOS) UTILISING VISUAL
OBSERVERS (EXTENDED LINE OF SIGHT) WI 2NM RADIUS OF
515053N 0005735W (WESTCOTT). MAX HGT 400FT AGL. FOR INFO
07852 318946. AR-2026-1737/01.
F) SFC G) 1000FT AMSL

J0487/26
RESTRICTED AREA (TEMPORARY) INSTALLED FOR UAS ONLY (LEICESTER)
WI 0.5NM RADIUS OF PSN 523752N 0010519W PILOTS ARE FORBIDDEN TO
FLY UAS WI THE DESIGNATED AREA WITHOUT THE PERMISSION OF EMERGENCY
CONTROLLING AUTHORITY LEICESTERSHIRE POLICE SER CTC TEL 101
REFERENCE 221/09022026. RESTRICTION OF FLYING REGULATIONS MADE
UNDER ARTICLE 239 OF AIR NAV ORDER 2016. AR-2026-1021/03.
F) SFC G) 1000FT AMSL

H0669/26
MAR 05-MAR 28 0830-2000, MAR 29-JUN 02 0730-1900
FLYING OF LARGE MODEL ACFT WI 0.18NM RADIUS OF 523620N 0012748W
(SIBSON). FOR INFO 07916 536553. AR-2026-1398/02.
F) SFC G) 1500FT AMSL

H0659/26
MAR 04-28 0800-2100, MAR 29-JUN 01 0700-2000
FLYING OF LARGE MODEL ACFT WI 1NM RADIUS OF 510718N 0021047W
(MONKTON DEVERILL). FOR INFO 07962 013388. AR-2026-1376/01.
F) SFC G) 2300FT AMSL

V0012/26
SECURITY - HAZARDOUS SITUATION IN LEBANON. UK REGISTERED AIR
OPERATORS ARE RECOMMENDED NOT TO ENTER FIR BEIRUT (OLBB).
POTENTIAL RISK FROM HEIGHTENED MILITARY ACTIVITY. FOR MORE INFO
CONTACT UK DEPARTMENT FOR TRANSPORT 02070 826639 OR 02079 443111
OUT OF HOURS. AR-2025-7732/01.
F) SFC G) UNL

J0312/26
TUE 0700-1600, WED-FRI 0700-1900, SAT 1400-2300
TEMPO **DANGER** AREA (TDA) EGD291A INSTALLED WI AREA BOUNDED BY STRAIGHT LINES JOINING:
523704N 0010751W - 523704N 0010749W - 523647N 0010749W - 523550N 0010736W - 523550N 0010741W - 523645N 0010752W - 523649N 0010755W - 523702N 0010826W - 523710N 0010846W - 523712N 0010844W - 523653N 0010758W - 523649N 0010752W - 523704N 0010751W (KNIGHTON FIELDS, LEICESTER). BEYOND VISUAL LINE OF SIGHT (BVLOS) UAS OPS WITHOUT VISUAL OBSERVERS CONTAINED WHOLLY WI THE TDA. MAX HGT 200FT AGL. EMERG SERVICES ACFT MAY ENTER THE AIRSPACE IN ACCORDANCE WITH LOCAL DECONFLICTION AGREEMENTS. FOR INFO 07484 424457. AR-2025-9316/24.
F) SFC G) 500FT AMSL

H0712/26
SR-SS
FLYING OF LARGE MODEL ACFT WI 0.8NM RADIUS OF 503439N 0033202W (ASHCOMBE). FOR INFO 07474 424630. AR-2026-1483/01.
F) SFC G) 2400FT AMSL

D0694/26
02-05 SS-SR, 06 SS-2359, 07 08 0001-2359, 09-13 SS-SR, 16-20 SS-SR
DANGER AREA EGD129 WESTON-ON-THE-GREEN **ACTIVATED**.
FOR INFO 07974 112143. AR-2026-1055/02.
F) SFC G) FL120

H0504/26
MAR 01-MAR 28 1800-0600, MAR 29-APR 30 1700-0500
FLARE FIRING WI 1NM RADIUS OF 513721N 0024544W (CAERWENT). FLARES WILL DESCEND BY PARACHUTE. FOR INFO 01874 635599. AR-2026-1072/01.
F) SFC G) 1600FT AMSL

H0502/26
MAR 01-28 0900-1600, MAR 29-APR 30 0800-1500
LIVE FIRING WI 1NM RADIUS OF 513403N 0024526W (ROGIET MOOR SMALL ARMS RANGE). INCREASE TO AIR **DANGER** HEIGHT. FOR INFO 01874 635599. AR-2026-1069/01.
F) SFC G) 900FT AMSL

J0430/26
0800-1800
TEMPO **DANGER** AREA (TDA) EGD390A INSTALLED WI 1.61NM RADIUS OF 535647N 0010421W (CLEMENTHORPE, YORK). BEYOND VISUAL LINE OF SIGHT UAS OPERATIONS CONTAINED WHOLLY WITHIN THE TDA. MAX HGT 400FT AGL. EMERG SERVICES ACFT MAY ENTER THE AIRSPACE IN ACCORDANCE WITH LOCAL DECONFLICTION AGREEMENTS. FOR INFO AROPS(AT)CAA.CO.UK. AR-2026-1395/01.
F) SFC G) 600FT AMSL

H9685/25
0930-1500
FLYING OF LARGE MODEL ACFT WI 1NM RADIUS OF 521126N 0002448W (RAVENSDEN). FOR INFO 07876 200320. AR-2025-7571/02.
F) SFC G) 1300FT AMSL

H0040/26
THU 1530-1630
MODEL ROCKET FIRING WI 1NM RADIUS OF 512249N 0005327W (ARBORFIELD, WOKINGHAM). LAUNCH SUBJ ATC CLR. FOR INFO 07816 522388. AR-2026-13/02.
F) SFC G) 700FT AMSL

H0595/26
SR-SS
FLYING OF LARGE MODEL ACFT WI 1NM RADIUS OF 505833N 0010222W (CHIDDEN). FOR INFO 07739 347722. AR-2026-1267/01.
F) SFC G) 2300FT AMSL

B0392/26
DANGER AREA EGD218B FAIRFORD IS MISSING FROM THE FOLLOWING
1:250,000 VFR CHARTS:
SHEET 6 ENGLAND EAST - EDITION 17 EFFECTIVE 10 JUL 25
SHEET 5 CENTRAL ENGLAND AND WALES - EDITION 16 EFFECTIVE 07 AUG 25
FURTHER DETAILS ARE **AVBL** VIA ENR 5.1 AND ON THE NATS INTERNET
BRIEFING SERVICE
1:250K VFR CHART AMENDMENT PAGE
F) FL050 G) FL240

H0691/26
SR-SS
UAS OPR WI 1NM RADIUS OF 510636N 0020223W (CHILMARK, WILTSHIRE).
MAX HGT 1000FT AGL. OPERATING DAYLIGHT HOURS ONLY. FOR INFO OR
SCHEDULE 07826 918598. AR-2026-1444/01.
F) SFC G) 1700FT AMSL

H0692/26
FEB 25-MAR 28 0700-2300, MAR 29-MAY 25 0600-2200
UAS OPR BEYOND VISUAL LINE OF SIGHT (BVLOS) UTILISING VISUAL
OBSERVERS (EXTENDED LINE OF SIGHT) WI 1NM RADIUS OF 522408N
0001405W (WOOD WALTON, CAMBRIDGESHIRE). MAX HGT 400FT AGL. FOR
INFO 07970 676628. AR-2026-1437/01.
F) SFC G) 600FT AMSL

H0492/26
FEB 23 - MAR 28 0700-2359, MAR 29 - MAY 22 0600-2259
UAS OPR WI 0.1NM RADIUS OF 512046N 0010830W (TADLEY). MAX HGT
300FT AGL. FOR INFO 07757 140487. AR-2026-1039/01.
F) SFC G) 700FT AMSL

H0529/26
FEB 22-MAR 28 0800-1800, MAR 29-MAY 22 0700-1700
UAS OPR BEYOND VISUAL LINE OF SIGHT (BVLOS) UTILISING VISUAL
OBSERVERS (EXTENDED LINE OF SIGHT) WI AREA BOUNDED BY STRAIGHT
LINES JOINING
514806N 0005056W - 514831N 0005000W - 514803N 0004932W -
514722N 0004825W - 514655N 0004725W - 514639N 0004625W -
514622N 0004532W - 514601N 0004508W - 514529N 0004420W -
514501N 0004340W - 514413N 0004301W - 514258N 0004137W -
514244N 0004121W - 514222N 0004213W - 514305N 0004242W -
514337N 0004312W - 514413N 0004353W - 514447N 0004424W -
514519N 0004457W - 514556N 0004610W - 514624N 0004720W -
514646N 0004827W - 514703N 0004907W - 514806N 0005056W
(BISHOPSTONE TO SOUTH HEATH). MAX HGT 500FT AGL. FOR INFO 074647
13829. AR-2026-1157/02.
F) SFC G) 1300FT AMSL

H0386/26
SR-SS
FLYING OF LARGE MODEL ACFT WI 1NM RADIUS OF 510652N 0021702W
(NORTON FERRIS). FOR INFO 07812 707597. AR-2026-773/01.
F) SFC G) 2400FT AMSL

H0292/26
0930-1800
FLYING OF LARGE MODEL ACFT WI 1NM RADIUS OF 521200N 0002130W
(COLMWORTH, BEDFORDSHIRE). FOR INFO 07876 200320 / 07785 397346.
AR-2026-541/01.
F) SFC G) 1300FT AMSL

H0195/26
FEB 21-MAR 28 0900-2200, MAR 29-MAY 21 0800-2100
FLYING OF LARGE MODEL ACFT WI 1NM RADIUS OF 522930N 0010010W
(LAUGHTON). FOR INFO 07824 862575. AR-2025-7013/04.
F) SFC G) 2100FT AMSL

H0643/26
SR-SS
FLYING OF LARGE MODEL ACFT WI 1NM RADIUS OF 515906N 0000951W (BALDOCK, HERTFORDSHIRE). FOR INFO 07710 924721. AR-2026-1362/02.
F) SFC G) 2000FT AMSL

H0642/26
SR-SS
FLYING OF LARGE MODEL ACFT WI 1NM RADIUS OF 514301N 0001544W (SHENLEY, HERTFORDSHIRE). FOR INFO 07710 924721. AR-2026-1359/01.
F) SFC G) 2000FT AMSL

H0644/26
SR-SS
FLYING OF LARGE MODEL ACFT WI 1NM RADIUS OF 525528N 0005747E (BINHAM). FOR INFO 07710 924721. AR-2026-1364/01.
F) SFC G) 1700FT AMSL

V0009/26
SECURITY - HAZARDOUS SITUATION IN LIBYA
UK REGISTERED AIR OPERATORS ARE RECOMMENDED NOT TO ENTER FIR TRIPOLI (HLLL). POTENTIAL RISK FROM ANTI-AIRCRAFT WEAPONRY.
THIS SUPERSEDES THE ADVICE IN THE CURRENT UK AIP.
UK AIP ENR 1.1. PARA 1.4.5 REFERS.
F) SFC G) UNL

H0615/26
SR-SS
UNMANNED CAPTIVE BALLOON WI 1NM RADIUS OF PSN 545800N 0014143W (GATESHEAD, TYNE AND WEAR) IN LOW FLYING AREA 12 AND NIGHT SECTOR 4AS. MAX HGT 200FT AGL. 26/02/093/LFTP
F) SFC G) 600FT AMSL

H0556/26
FEB 17 - MAR 28 1200-2359, MAR 29 - MAY 17 1100-2259
UAS SWARM OPR WI 0.2NM RADIUS OF 511817N 0021844W (NORTON SAINT PHILIP). SWARM MADE UP OF 1000 UAS. MAX HGT 400FT AGL. FOR INFO 079153 11799. AR-2026-1200/01.
F) SFC G) 800FT AMSL

H0397/26
SR-SS
FLYING OF LARGE MODEL ACFT WI 0.3NM RADIUS OF 514901N 0015625W (CHEDWORTH ABANDONED AD). FOR INFO 07816 506828. AR-2026-796/01.
F) SFC G) 2400FT AMSL

H0460/26
FEB 16 - MAR 28 1000-2330, MAR 29 - MAY 16 0900-2230
UAS SWARM OPR WI 0.1NM RADIUS OF 514518N 0001546W (SMALLFORD, HATFIELD). SWARM MADE UP OF 600 UAS. MAX HGT 400FT AGL.
FOR INFO 07738 612566. AR-2026-965/01.
F) SFC G) 700FT AMSL

H0412/26
FEB 07 - MAR 28 1000-1900, MAR 29 - MAY 07 0900-1800
FLYING OF LARGE MODEL ACFT WI 0.5NM RADIUS OF 543321N 0010408W (GUISBOROUGH). INCLUDES HIGH SPEED GAS TURBINE MODELS. FOR INFO 07528 971745. AR-2026-847/02.
F) SFC G) 1500FT AMSL

B0254/26
THE FOLLOWING UAS RESTRICTED AREAS HAVE BEEN REMOVED FROM THE AIP
WEF 19 FEBRUARY 2026
EGRU185 NSA BOSCOMBE DOWN
EGRU268 NSA BRIZE NORTON
EGRU354 NSA CONINGSBY
EGRU707 NSA KYLE OF LOCHALSH
EGRU708 NSA LOSSIEMOUTH
EGRU276 NSA MARHAM
EGRU280 NSA PONTRILAS
ERGU356 NSA WADDINGTON
UK AIP ENR 5.1 REFERS.
F) SFC G) 1000FT AMSL

V0005/26
SECURITY - HAZARDOUS SITUATION IN THE DEMOCRATIC REPUBLIC OF THE
CONGO. UK REGISTERED AIR OPERATORS ARE RECOMMENDED NOT TO ENTER
FIR KINSHASA (FZZA) WITHIN 200NM OF THE EASTERN BOUNDARY, BETWEEN
THE 1ST PARALLEL NORTH AND THE 5TH PARALLEL SOUTH. POTENTIAL RISK
FROM ANTI-AIRCRAFT WEAPONRY. AR-2025-3565/03.
UK AIP ENR 1.1 PARA 1.4.5 REFERS.
F) SFC G) UNL

H0418/26
FEB 04 - MAR 28 0900-2100, MAR 29 - MAY 03 0800-2000
FLYING OF LARGE MODEL ACFT WI 0.27NM RADIUS OF 532854N 0022839W
(GLAZEBURY, CHESHIRE). FOR INFO 07969 460032. AR-2026-866/01.
F) SFC G) 2100FT AMSL

H0385/26
FEB 03-MAR 28 1000-1800, MAR 29-MAY 03 0900-1700
FLYING OF LARGE MODEL ACFT WI 1NM RADIUS OF 514105N 0000741W
(BOTANY BAY). FOR INFO 07886 138027. AR-2026-777/01.
F) SFC G) 1400FT AMSL

H0335/26
FEB 02 - MAR 28 0800-1700, MAR 29 - APR 30 0700-1600
UAS OPR WI 2.5NM RADIUS OF 542214N 0014612W (CATTERICK GARRISON).
MAX HGT 400FT AGL. FOR INFO 01748 87 5503. AR-2026-650/01.
F) SFC G) 1500FT AMSL

H0329/26
JAN 29-MAR 28 0800-1800, MAR 29-APR 29 0700-1700
UAS OPR WI AREA BOUNDED BY STRAIGHT LINES JOINING
512837N 0011752W - 512828N 0011738W - 512811N 0011732W -
512758N 0011800W - 512744N 0011807W - 512748N 0011828W -
512811N 0011835W - 512821N 0011832W - 512825N 0011811W -
512833N 0011807W - 512837N 0011752W (CHIEVELEY). MAX HGT 900FT
AGL. FOR INFO 07342 386615. AR-2026-631/01.
F) SFC G) 1400FT AMSL

H0252/26
JAN 28 31 FEB 04 07 11 14 18 21 25 28 MAR 04 07 11 14 18 21 25 28
, 1000-1700, APR 01 04 08 11 15 18 22 25 0900-1600
FLYING OF LARGE MODEL ACFT WI 0.55NM RADIUS OF 540817N 0012500W
(DISHFORTH). FOR INFO 07749 736802. AR-2026-458/01.
F) SFC G) 1700FT AMSL

H0078/26
JAN 27-MAR 28 1000-2359, MAR 29-APR 25 0900-2259
UAS SWARM OPR WI 1NM RADIUS OF 530716N 0010120W (BILSTHORPE).
SWARM MADE UP OF 500 UAS. MAX HGT 600FT AGL.
FOR INFO 07547 155440. AR-2026-111/01.
F) SFC G) 1000FT AMSL

H0086/26
SAT SUN 1000-1800
FLYING OF LARGE MODEL ACFT WI 0.3NM RADIUS OF 504838N 0005525W (THORNEY ISLAND). FOR INFO 07906 078495 / 07808 926007. AR-2026-138/01.
F) SFC G) 1300FT AMSL

H0163/26
22 JAN - 28 MAR 0700-2100, 29 MAR - 21 APR 0600-2000
FLYING OF LARGE MODEL ACFT WI 0.5NM RADIUS OF 534202N 0011955W (PONTEFRACT PARK, PONTEFRACT). FOR INFO 07802 725231. AR-2026-211/01.
F) SFC G) 1800FT AMSL

H0197/26
JAN 20-MAR 28 0800-1900, MAR 29-APR 18 0900-2000
FLYING OF LARGE MODEL ACFT WI 0.6NM RADIUS OF 505533N 0020117W (CASHMOOR). FOR INFO 07909022800. AR-2026-344/01.
F) SFC G) 1900FT AMSL

H0226/26
FLARE FIRING WI 2NM RADIUS OF 542211N 0014603W (CATTERICK GARRISON). FLARES WILL DESCEND BY PARACHUTE. FOR INFO 01748 875503. AR-2026-401/01.
F) SFC G) 2100FT AMSL

H0219/26
JAN 19-MAR 28 0800-2230, MAR 29-APR 14 0700-2130
FLYING OF LARGE MODEL ACFT WI 1NM RADIUS OF 521435N 0012040W (SOUTHAM, WARWICKSHIRE). FOR INFO 07801 281492. AR-2026-383/01.
F) SFC G) 2100FT AMSL

H0181/26
SR-SS
FLYING OF LARGE MODEL ACFT WI 0.5NM RADIUS OF 522358N 0000615W (WARBOYS). FOR INFO 07586 292737. AR-2026-311/01.
F) SFC G) 1700FT AMSL

H0131/26
17 JAN-28 MAR 0800-2100, 29 MAR-14 APR 0700-2000
FLYING OF LARGE MODEL ACFT WI 1NM RADIUS OF 514232N 0000753W (CUFFLEY). FOR INFO 07496 769327 / 07733 112937. AR-2026-209/01.
F) SFC G) 1700FT AMSL

V0004/26
NATIONAL SECURITY / SAFETY - AFGHANISTAN. UK CIVIL AIR OPERATORS ARE STILL REQUIRED TO CONSIDER THE ICAO CONTINGENCY COORDINATION TEAM BULLETIN 14 DATED 06 OCT 2025 FOR FLIGHT PLANNING AND OPERATIONAL PURPOSES. FOR INFO CTC 02079 443111. AR-2026-368/02.
F) SFC G) UNL

H0196/26
JAN 15-MAR 28 1000-2100, MAR 29-31 0900-2000
FLYING OF LARGE MODEL ACFT WI 1NM RADIUS OF 531943N 0004728W (LITTLEBOROUGH). FOR INFO 07710 863042 / 07865 936556. AR-2025-10064/02.
F) SFC G) 1300FT AMSL

H0194/26
JAN 15 0911-1700, JAN 16-MAR 28 0900-1700, MAR 29-30 0800-1600
FLYING OF LARGE MODEL ACFT WI 1NM RADIUS OF 513448N 0013008W (SPARSHOLT). FOR INFO 07454 733211. AR-2025-10070/02.
F) SFC G) 2200FT AMSL

H0143/26
JAN 13-MAR 28 0800-1800, MAR 29-APR 08 0700-1700
UAS OPR BEYOND VISUAL LINE OF SIGHT (BVLOS) UTILISING VISUAL OBSERVERS (EXTENDED LINE OF SIGHT) WI 0.8NM RADIUS OF 521117N 0012724E (FARNHAM). MAX HGT 657FT AGL. FOR INFO 07818 502243. AR-2026-225/01.
F) SFC G) 800FT AMSL

H0142/26
JAN 13-MAR 28 0800-1800, MAR 29-APR 08 0700-1700
UAS OPR BEYOND VISUAL LINE OF SIGHT (BVLOS) UTILISING VISUAL
OBSERVERS (EXTENDED LINE OF SIGHT) WI AREA BOUNDED BY STRAIGHT
LINES JOINING 521741N 0013228E - 521730N 0013256E -
521531N 0013101E - 521519N 0013125E - 521538N 0013158E -
521528N 0013213E - 521507N 0013226E - 521502N 0013256E -
521451N 0013316E - 521446N 0013344E - 521442N 0013404E -
521341N 0013500E - 521328N 0013442E - 521349N 0013411E -
521345N 0013327E - 521408N 0013304E - 521430N 0013257E -
521457N 0013156E - 521453N 0013140E - 521455N 0013051E -
521447N 0012955E - 521524N 0012944E - 521703N 0013118E -
521741N 0013228E
(BRAMFIELD TO SIZEWELL). MAX HGT 657FT AGL. FOR INFO 07818502243.
AR-2026-224/01.
F) SFC G) 800FT AMSL

H0144/26
JAN 13-MAR 28 0800-1800, MAR 29-APR 08 0700-1700
UAS OPR BEYOND VISUAL LINE OF SIGHT (BVLOS) UTILISING VISUAL
OBSERVERS (EXTENDED LINE OF SIGHT) WI 0.5NM RADIUS OF
520950N 0012303E (WICKHAM MARKET, SUFFOLK). MAX HGT 657FT AGL. FOR
INFO 07818 502243. AR-2026-228/01.
F) SFC G) 800FT AMSL

H0145/26
JAN 13-MAR 28 0800-1800, MAR 29-APR 08 0700-1700
UAS OPR BEYOND VISUAL LINE OF SIGHT (BVLOS) UTILISING VISUAL
OBSERVERS (EXTENDED LINE OF SIGHT) WI AREA BOUNDED BY STRAIGHT
LINES JOINING 521401N 0013730E - 521245N 0013744E -
521244N 0013653E - 521228N 0013658E - 521219N 0013640E -
521211N 0013609E - 521205N 0013607E - 521205N 0013554E -
521234N 0013500E - 521253N 0013447E - 521252N 0013359E -
521238N 0013357E - 521242N 0013317E - 521250N 0013319E -
521312N 0013348E - 521321N 0013345E - 521327N 0013422E -
521332N 0013459E - 521359N 0013533E - 521419N 0013620E -
521401N 0013730E (LEISTON TO SIZEWELL).
MAX HGT 657FT AGL. FOR INFO 07818502243. AR-2026-223/01.
F) SFC G) 800FT AMSL

H0146/26
JAN 13-MAR 28 0800-1800, MAR 29-APR 08 0700-1700
UAS OPR BEYOND VISUAL LINE OF SIGHT (BVLOS) UTILISING VISUAL
OBSERVERS (EXTENDED LINE OF SIGHT) WI 0.2NM RADIUS OF
522008N 0013027E (HALESWORTH, SUFFOLK). MAX HGT 657FT AGL.
FOR INFO 07818 502243. AR-2026-226/01.
F) SFC G) 800FT AMSL

H0141/26
SR-SS
UAS OPR BEYOND VISUAL LINE OF SIGHT (BVLOS) UTILISING VISUAL
OBSERVERS (EXTENDED LINE OF SIGHT) WI AREA BOUNDED BY STRAIGHT
LINES JOINING 521401N 0013730E - 521245N 0013744E -
521244N 0013653E - 521228N 0013658E - 521219N 0013640E -
521211N 0013609E - 521205N 0013607E - 521205N 0013554E -
521234N 0013500E - 521253N 0013447E - 521252N 0013359E -
521238N 0013357E - 521242N 0013317E - 521250N 0013319E -
521312N 0013348E - 521321N 0013345E - 521327N 0013422E -
521332N 0013459E - 521359N 0013533E - 521419N 0013620E -
521401N 0013730E (SIZEWELL). MAX HGT 657FT AGL.
FOR INFO 07818 502243. AR-2026-220/01.
F) SFC G) 800FT AMSL

H0029/26
SR-SS
UAS OPR WI 1NM RADIUS OF 515056N 0005818W (WADDESDON). BEYOND VISUAL LINE OF SIGHT. MAX HGT 50FT AGL. FOR INFO 07894 568601 / 07852 318946. AR-2025-9914/04.
F) SFC G) 500FT AMSL

H0115/26
JAN 12-MAR 28 0600-2359, MAR 29-APR 10 0500-2259
LIVE FIRING WI 1NM RADIUS OF 514910N 0011008W (OTMOOR SMALL ARMS RANGE). INCREASE TO AIR **DANGER** HEIGHT. FOR INFO CONTACT 07970 337862 OR 07717 542388. AR-2026-163/02.
F) SFC G) 1000FT AMSL

H0060/26
JAN 11 - MAR 28 0900-2000, MAR 29 - APR 10 0800-1900
FLYING OF LARGE MODEL ACFT WI 0.13NM RADIUS OF 524451N 0025108W (MONTFORD BRIDGE). FOR INFO 07909 511031. AR-2026-95/01.
F) SFC G) 1800FT AMSL

H0024/26
SR-SS
FLYING OF LARGE MODEL ACFT WI 1NM RADIUS OF 522242N 0005308E (KNETTISHALL). FOR INFO 00447914094525. AR-2026-36/01.
F) SFC G) 1200FT AMSL

H0116/26
KIRTON-IN-LINDSEY GLIDER SITE, LINCS PSN 532745N 0003436W SFC-2000FT AGL, SITE NO LONGER **ACTIVE**. UK AIP ENR 5.5, VFR CHARTS REFERS.
F) SFC G) 2203FT AMSL

H0023/26
SR-SS
FLYING OF LARGE MODEL ACFT WI 1NM RADIUS OF 515909N 0020454W (ASHCHURCH). FOR INFO 07778 034399. AR-2025-10111/02.
F) SFC G) 1700FT AMSL

H0030/26
JAN 07-MAR 28 0700-1800, MAR 29-APR 06 0600-1700
UAS OPR BEYOND VISUAL LINE OF SIGHT (BVLOS) UTILISING VISUAL OBSERVERS (EXTENDED LINE OF SIGHT) WI AREA BOUNDED BY STRAIGHT LINES JOINING 521406N 0013555E - 521401N 0013737E - 521303N 0013726E - 521304N 0013642E - 521237N 0013643E - 521233N 0013725E - 521222N 0013723E - 521214N 0013607E - 521234N 0013500E - 521247N 0013301E - 521406N 0013555E (SIZEWELL). MAX HGT 500FT AGL. FOR INFO 07464 713829. AR-2026-7/03.
F) SFC G) 600FT AMSL

H9695/25
1200-2300
UAS SWARM OPR WI 0.4NM RADIUS OF 504455N 0004605W (CHURCH NORTON). SWARM MADE UP OF 100 UAS. MAX HGT 600FT AGL. FOR INFO 01243 908031. AR-2025-9845/01.
F) SFC G) 700FT AMSL

H9383/25
SR-SS
FLYING OF LARGE MODEL ACFT WI 1NM RADIUS OF 540815N 0002238W (WOLD NEWTON). FOR INFO 07483 223878. AR-2025-9554/01.
F) SFC G) 1600FT AMSL

H9629/25
0800-1700
FLYING OF LARGE MODEL ACFT WI 0.5NM RADIUS OF 533943N 0003340W (WINTERTON). FOR INFO 07508 525011. AR-2025-10010/01.
F) SFC G) 1600FT AMSL

==========
EXTENDED AREA AROUND DESTINATION
==========

LPPC LISBON FIR

++++++++++++++++++++++++++++ FIR/UIR ++++++++++++++++++++++++++++++

M0492/26
TRIGGER NOTAM - NON AIRAC MIL SUP 06/26 WEF 19MAR2026. NATO AWACS E-3A ORBIT AREAS.
M0491/26
AIRAC MIL AIP SUP 03/26 IS HEREBY CANCELLED. NEW SUPPLEMENT WILL FOLLOW.
A0612/26
LPPC FIR - NATO AWACS ORBIT AREAS
3. ACTIVATION, FUA RESTRICTIONS:
LPDAW1R CHANGE TO LPD1AWR
LPDAW2R CHANGE TO LPD2AWR
LPDAW3R CHANGE TO LPD3AWR
LPDAW4R CHANGE TO LPD4AWR
LPDAW5R CHANGE TO LPD5AWR
4. DESCRIPTION OF NATO AWACS E-3A ORBIT AREAS, ORBIT AREAS: LPDAW1 CHANGE TO LPD1AW
LPDAW2 CHANGE TO LPD2AW
LPDAW3 CHANGE TO LPD3AW
LPDAW4 CHANGE TO LPD4AW
LPDAW5 CHANGE TO LPD5AW
REF AIRAC AIP SUP 039/2026.
A1401/26
LISBOA INFORMATION FREQ 127.905MHZ **U/S**.
A1065/26
REF AIP SUP 046/2025 BELARUSSIAN AIRCRAFT RESTRICTION.
NEW END OF VALIDITY 28 FEB 2027 ESTIMATED.
A1064/26
REF AIP SUP 042/2025 RUSSIAN FEDERATION - OPERATION RESTRICTION IN PORTUGUESE TERRITORY. NEW END OF VALIDITY 28 FEB 2027 ESTIMATED.
A0854/26
SINES I CHIMNEY, POSITION 375545N 0084817W ELEV 277M/HEIGHT 234M, OBSTACLE LIGHTS UNSERVICEABLE ABOVE 120M.
A0724/26
WHEN OPERATING INTO THE AIRSPACE OF VENEZUELA (FIR MAIQUETIA, SVZM), PORTUGUESE CIVIL AIR OPERATORS ARE ADVISED TO EXERCISE **CAUTION** AND IMPLEMENT CONTINGENCY PLANNING FOR OPERATIONS AT ALL ALTITUDES AND FLIGHT LEVELS, MONITOR AIRSPACE DEVELOPMENTS IN THE REGION AND FOLLOW ALL **AVAILABLE** AERONAUTICAL PUBLICATIONS, AS WELL AS ENSURE THAT AN UP-TO-DATE RISK ASSESSMENT IS IN PLACE TOGETHER WITH A HIGH LEVEL OF CONTINGENCY PLANNING FOR OPERATIONS AT ALL ALTITUDES OVER VENEZUELAN AIRSPACE. THIS ADVISORY IS ISSUED IN VIEW OF THE IMPROVING RISK ENVIRONMENT AFTER THE EVENTS THAT TOOK PLACE IN THE BEGINNING OF JANUARY 2026 AND IS VALID UNTIL 31 MARCH 2026. EMERGENCY PROVISIONS: IN THE EVENT OF AN EMERGENCY REQUIRING IMMEDIATE ACTION TO ENSURE THE SAFETY OF THE FLIGHT, THE PILOT-IN-COMMAND IS AUTHORIZED TO DEVIATE FROM THIS ADVISORY AS NECESSARY TO ADDRESS THE SITUATION.
A0666/26
OBSTACLE LIGHTS OF WINDMILLS PICOS - VALE DO DO CHAO WITHIN AREA WITH 2KM RADIUS CENTRED AT 400425N 0080841W UNSERVICEABLE.

M1813/25
PORTUGAL MIL NOF DUTY HOURS MON-FRI 0745-1545 UTC, PUBLIC HOLIDAYS EXCLUDED.OUTSIDE THESE DUTY HOURS, MIL NOF TASK IS DELEGATED TO LAJES AIR BASE ARO, LOCATION INDICATOR LPLAYOYX.

++++++++++++++++++++++++++++ WAYPOINT ++++++++++++++++++++++++++++

A0538/26
DVOR/DME SGR FREQ 113.900MHZ/CH86X , **VOR** PART **U/S**.

++++++++++++++++++++++ RESTRICTED AIRSPACE ++++++++++++++++++++++

A1510/26 VALID: 20-MAR-26 1105 - 20-MAR-26 1626
MOBILE AIRSPACE RESERVATION WILL TAKE PLACE ON ROUTE:
LUTAK - SONAP - ORTOP.
F) FL240 G) FL260
A1508/26 VALID: 20-MAR-26 1053 - 20-MAR-26 1450
MOBILE AIRSPACE RESERVATION WILL TAKE PLACE ON ROUTE:
LUTAK - SONAP - ORTOP.
F) FL100 G) FL140
A0541/26
17-22 1800-0659, 23 1800-0559
AIRSPACE RESERVATION FOR UAV WILL TAKE PLACE IN AREA LPD25 SANTA MARGARIDA LIMITS .
F) GND G) 5500FT AMSL
A1294/26
DAILY SR-SS
PARAGLIDING WILL TAKE PLACE WI STRAIGHT LINE DEFINED BY:
382850N 0085812W (FIGUEIRINHA)- 382446N 0091307W (CABO ESPICHEL)
ALONG THE SHORELINE.
BEGINNING AND END OF ACTIVITY MUST BE REPORTED TO LISBOA INFORMATION. F) GND G) 1600FT AMSL
A1295/26
DAILY SR-SS
PARAGLIDING WILL TAKE PLACE WI STRAIGHT LINE DEFINED BY:
371016N 0085415W (PRAIA DO AMADO) - 370552N 0085656W (PRAIA DO CASTELEJO).
BEGINNING AND END OF ACTIVITY MUST BE REPORTED TO LISBOA INFORMATION. F) GND G) 400FT AMSL
A1189/26
AIRSPACE RESERVATION FOR INSTREX26 WILL TAKE PLACE ON AREA (ITX02)
BOUNDED BY:
382215N 0091200W - 382215N 0091015W - 382300N 0090840W - 382530N 0090415W - 382542N 0085810W - 381800N 0085100W - 381300N 0085200W - 381000N 0090000W - 381000N 0091200W - 382215N 0091200W.
BEGINNING AND END OF ACTIVITY MUST BE REPORTED TO LISBOA INFORMATION. F) SFC G) 1500FT AMSL
A1193/26
AIRSPACE RESERVATION FOR INSTREX26 WILL TAKE PLACE ON AREA (ITX12)BOUNDED BY:
382400N 0093630W - 382400N 0091200W - 381000N 0091200W - 381000N 0093100W - 382400N 0093630W.
BEGINNING AND END OF ACTIVITY MUST BE REPORTED TO LISBOA INFORMATION. F) SFC G) 1500FT AMSL

A1195/26
AIRSPACE RESERVATION FOR INSTREX26 WILL TAKE PLACE ON AREA (ITX04) BOUNDED BY:
381000N 0091000W - 381000N 0090000W - 381300N 0085100W - 381300N 0084730W - 380000N 0085245W - 380000N 0091000W - 381000N 0091000W.
BEGINNING AND END OF ACTIVITY MUST BE REPORTED TO LISBOA INFORMATION. F) SFC G) 2000FT AMSL

A1198/26
AIRSPACE RESERVATION FOR INSTREX26 WILL TAKE PLACE ON AREA (ITX05) BOUNDED BY:
380000N 0091000W - 380000N 0085245W - 375715N 0085415W - 375000N 0084730W - 375000N 0091000W - 380000N 0091000W.
BEGINNING AND END OF ACTIVITY MUST BE REPORTED TO LISBOA INFORMATION. F) SFC G) 3000FT AMSL

A1200/26
AIRSPACE RESERVATION FOR INSTREX26 WILL TAKE PLACE ON AREA (ITX13) BOUNDED BY:
381000N 0093100W - 381000N 0091000W - 380000N 0091000W - 380000N 0092700W - 381000N 0093100W.
BEGINNING AND END OF ACTIVITY MUST BE REPORTED TO LISBOA INFORMATION. F) SFC G) 2000FT AMSL

A1202/26
AIRSPACE RESERVATION FOR INSTREX26 WILL TAKE PLACE ON AREA (ITX14) BOUNDED BY:
380000N 0092700W - 380000N 0091000W - 375000N 0091000W - 375000N 0093000W - 380000N 0092700W.
BEGINNING AND END OF ACTIVITY MUST BE REPORTED TO LISBOA INFORMATION. F) SFC G) 3000FT AMSL

A1220/26
AIRSPACE RESERVATION FOR INSTREX26 WILL TAKE PLACE ON AREA (ITX01) BOUNDED BY:
382751N 0090009W - 383040N 0085500W - 383040N 0085040W - 382000N 0084700W - 381800N 0084648W - 381800N 0085100W - 382542N 0085810W - 382751N 0090009W.
BEGINNING AND END OF ACTIVITY MUST BE REPORTED TO LISBOA INFORMATION. F) SFC G) 1000FT AMSL

A1371/26
16 1430-1730, 18 1145-1430 1500-1730 1815-2045, 19-20 1100-1330 , 1430-1700
AIRSPACE RESERVATION FOR AIR EXERCISE NEVERLAND WILL TAKE PLACE AREA BOUNDED BY: 411800N 0072300W - 412248N 0062333W - 403157N 0064722W - 403200N 0074500W - 404350N 0074500W - 411800N 0072300W, EXCLUDING LECM FIR. ACTIVITY SUBJECT TO COORDINATION AND TRAFFIC.
F) FL245 G) FL280

A1372/26
16 1430-1730, 18 1145-1430 1500-1730 1815-2045, 19-20 1100-1330 , 1430-1700
AIRSPACE RESERVATION FOR AIR EXERCISE SNOWFALL WILL TAKE PLACE AREA BOUNDED BY: 403200N 0074500W - 403157N 0064722W - 395337N 0065359W - 395400N 0074500W - 403200N 0074500W, EXCLUDING LECM FIR. ACTIVITY SUBJECT TO COORDINATION AND TRAFFIC.
F) FL245 G) FL280

A1191/26
AIRSPACE RESERVATION FOR INSTREX26 WILL TAKE PLACE ON AREA (ITX03) BOUNDED BY:
381800N 0085100W - 381800N 0084215W - 381400N 0084030W - 381200N 0084145W - 381300N 0085200W - 381800N 0085100W.
BEGINNING AND END OF ACTIVITY MUST BE REPORTED TO LISBOA INFORMATION. F) SFC G) 1000FT AMSL

A1090/26
MON-FRI 0900-2359
UNMANNED ACFT WILL TAKE PLACE ATOUGUIA DA BALEIA ULM AIRFIELD
392050N 0091953W - 392024N 0091853W - CIRCULAR ARC WITH CENTER AT
392055N 0091912W AND A RADIUS OF 1000 METERS, IN A RETROGRADE
DIRECTION BACK TO 392050N 0091953W (ATOUGUIA DA BALEIA). BEGINNING
AND END OF ACTIVITY MUST BE REPORTED TO LISBOA INFORMATION. F) SFC
G) 900FT AGL

A1091/26
MON-FRI 0900-2359
UNMANNED ACFT WILL TAKE PLACE AREA 2B:
391345N 0100405W - 400710N 0100534W - 400443N 0093653W -
394840N 0093709W - 391340N 0095313W - 391345N 0100405W.
BEGINNING AND END OF ACTIVITY MUST BE REPORTED TO LISBOA
INFORMATION. F) SFC G) 3500FT AMSL

A1092/26
MON-FRI 0900-2359
UNMANNED ACFT WILL TAKE PLACE WI AREA CIRCULAR SIERRA 2000M RADIUS
CENTERED ON 392509N 0092229W (SEA). BEGINNING AND END OF ACTIVITY
MUST BE REPORTED TO LISBOA INFORMATION.
F) SFC G) 900FT AGL

A1093/26
MON-FRI 0900-2359
UNMANNED ACFT WILL TAKE PLACE 750M WIDTH WI JULIET CORRIDOR:
392051N 0091913W - 392059N 0091838W - 392124N 0091800W -
392205N 0091723W - 392252N 0091824W - 392439N 0092139W -
392509N 0092230W - 392051N 0091913W.
BEGINNING AND END OF ACTIVITY MUST BE REPORTED TO LISBOA
INFORMATION. F) 500FT AMSL G) 900FT AMSL

A1094/26
MON-FRI 0900-2359
UNMANNED ACFT WILL TAKE PLACE 750M WIDTH WI INDIA CORRIDOR:
392509N 0092230W - 392322N 0092631W - 392130N 0092748W.
BEGINNING AND END OF ACTIVITY MUST BE REPORTED TO LISBOA
INFORMATION. F) 500FT AMSL G) 900FT AMSL

A1095/26
MON-FRI 0900-2359
UNMANNED ACFT WILL TAKE PLACE WI AREA 1B BOUNDED BY:
391340N 0095312W - 392144N 0094931W - 392138N 0094056W -
392133N 0092949W - 392131N 0092700W - 391642N 0092257W -
391328N 0092312W - 391340N 0095312W.
BEGINNING AND END OF ACTIVITY MUST BE REPORTED TO LISBOA
INFORMATION. F) SFC G) 900FT AMSL

A1096/26
MON-FRI 0900-2359
UNMANNED ACFT WILL TAKE PLACE 750M WIDTH ALONG HOTEL CORRIDOR:
392509N 0092230W - 394622N 0093827W.
BEGINNING AND END OF ACTIVITY MUST BE REPORTED TO LISBOA
INFORMATION. F) 500FT AMSL G) 900FT AMSL

A0721/26
07 14 21 28 0930-1830
AIRSPACE RESERVATION FOR GUN FIRING WILL TAKE PLACE WI LPD10
(ALCOCHETE).
F) GND G) 3000FT AMSL

A0931/26
SR-SS
PARAGLIDING WILL TAKE PLACE AREA BOUNDED BY:
394423N 0090216W - 393901N 0090402W - 393905N 0090428W - 394428N
0090239W - 394423N 0090216W (PAREDES DA VITORIA).
F) GND G) 400FT AGL

A0792/26
02-06 1800-1830, 09-13 1800-2330, 16-20 1800-2330, 23-27 1800-2330
AIRSPACE RESERVATION FOR GUN FIRING WILL TAKE PLACE WI LPD10
(ALCOCHETE).
F) GND G) 5000FT AMSL

A0782/26
AIRSPACE RESERVATION FOR UAV WILL TAKE PLACE IN AREA NAVY 1
BOUNDED BY:
370924N 0072509W - 364555N 0072509W - 364555N 0080816W -
365654N 0080816W - 365403N 0075103W - 370924N 0072509W.
ACTIVITY SUBJECT TO COORDINATION WITH FARO TWR.
F) SFC G) 500FT AMSL

A0783/26
AIRSPACE RESERVATION FOR UAV WILL TAKE PLACE IN AREA NAVY 2
BOUNDED BY:
364555N 0072509W - 362027N 0072509W - 362027N 0080816W -
364555N 0080816W - 364555N 0072509W.
ACTIVITY SUBJECT TO COORDINATION WITH FARO TWR.
F) SFC G) 1500FT AMSL

A0785/26
AIRSPACE RESERVATION FOR UAV WILL TAKE PLACE IN AREA NAVY 4
BOUNDED BY:
365929N 0080816W - 364555N 0080816W - 364555N 0090138W - 365655N
0090138W - 370255N 0083903W - 365929N 0080816W.
ACTIVITY SUBJECT TO COORDINATION WITH FARO TWR.
F) SFC G) 500FT AMSL

A0784/26
AIRSPACE RESERVATION FOR UAV WILL TAKE PLACE IN AREA NAVY 3
BOUNDED BY:
364555N 0080816W - 362027N 0080816W - 362027N 0090138W -
364555N 0090138W - 364555N 0080816W.
ACTIVITY SUBJECT TO COORDINATION WITH FARO TWR.
F) SFC G) 1500FT AMSL

A0786/26
AIRSPACE RESERVATION FOR UAV WILL TAKE PLACE IN AREA NAVY 5
BOUNDED BY:
365929N 0080816W - 370629N 0083647W - 370638N 0083749W - 370255N
0083903W - 365929N 0080816W.
ACTIVITY SUBJECT TO COORDINATION WITH FARO TWR.
F) SFC G) 500FT AMSL

A0788/26
AIRSPACE RESERVATION FOR UAV WILL TAKE PLACE IN AREA NAVY 7
BOUNDED BY:
364555N 0090138W - 362027N 0090138W - 362027N 0093614W - 364555N
0093614W - 364555N 0090138W.
ACTIVITY SUBJECT TO COORDINATION WITH FARO TWR.
F) SFC G) 2000FT AMSL

A0787/26
AIRSPACE RESERVATION FOR UAV WILL TAKE PLACE IN AREA NAVY 6
BOUNDED BY:
370904N 0083625W - 370845N 0083530W - 370629N 0083646W - 370638N
0083747W - 370904N 0083625W.
ACTIVITY SUBJECT TO COORDINATION WITH FARO TWR.
F) SFC G) 500FT AMSL

A0789/26
AIRSPACE RESERVATION FOR UAV WILL TAKE PLACE IN AREA NAVY 8
BOUNDED BY:
364555N 0093614W - 371544N 0091332W - 371544N 0085738W - 365655N
0090138W - 364555N 0090138W - 364555N 0093614W.
ACTIVITY SUBJECT TO COORDINATION WITH FARO TWR.
F) SFC G) 2000FT AMSL

A0790/26
AIRSPACE RESERVATION FOR UAV WILL TAKE PLACE IN AREA NAVY 9
BOUNDED BY:
371544N 0091330W - 371544N 0085738W - 372701N 0085138W - 374307N 0084858W - 375143N 0085558W - 375139N 0091302W - 374030N 0085435W - 371544N 0091330W.
ACTIVITY SUBJECT TO COORDINATION WITH LISBOA INFORMATION.
F) SFC G) 2000FT AMSL

A0791/26
AIRSPACE RESERVATION FOR UAV WILL TAKE PLACE IN AREA NAVY 10
BOUNDED BY:
375138N 0091310W - 375143N 0085558W - 381300N 0085200W - 381000N 0090000W - 375959N 0090000W - 375959N 0091116W - 375138N 0091310W
ACTIVITY SUBJECT TO COORDINATION WITH LISBOA INFORMATION.
F) SFC G) 1500FT AMSL

A0513/26
SR-SS
GLIDER FLYING, PARAGLIDING OR HANG GLIDING WILL TAKE PLACE
ON AREA BOUNDED BY:
393502N 0085208W - 393334N 0084717W - 393208N 0084555W - 392820N 0085326W - 393502N 0085208W- PORTO DE MOS.
F) SFC G) 1000FT AGL

A0537/26
SR-SS
PARAGLIDING WILL TAKE PLACE AREA WI 16KM RADIUS CENTERED ON
412450N 0075920W (MONDIM DE BASTO).
F) GND G) FL050

A0517/26
AIRSPACE RESERVATION FOR UAV ACTIVITY WILL TAKE PLACE AREA EMSA01
BOUNDED BY:
362526N 0072259W - 355800N 0072259W - 355800N 0080816W - 355800N 0090137W - 355800N 0093614W - 362430N 0093612W - 362446N 0090137W - 362504N 0083558W - 362526N 0072259W.
ACTIVITY SUBJECT TO COORDINATION WITH LISBOA INFORMATION.
F) SFC G) 5000FT AMSL

A0518/26
AIRSPACE RESERVATION FOR UAV ACTIVITY WILL TAKE PLACE ON AREA
EMSA02
AREA BOUNDED BY:
370254N 0083902W - 370235N 0083604W - 362504N 0083558W - 362459N 0084514W - 362446N 0090137W - 363919N 0090137W - 364555N 0090137W - 365654N 0090138W - 370133N 0084410W - 370254N 0083902W.
ACTIVITY SUBJECT TO COORDINATION WITH FARO TWR.
F) SFC G) 3000FT AMSL

A0523/26
AIRSPACE RESERVATION FOR UAV ACTIVITY WILL TAKE PLACE ON AREA
EMSA03
DEFINED BY:
364555N 0072300W - 362526N 0072259W - 362504N 0083558W - 363532N 0083600W - 364544N 0083601W - 364555N 0080816W - 364555N 0072300W.ACTIVITY SUBJECT TO COORDINATION WITH FARO TWR.
F) SFC G) 1000FT AMSL

A0524/26
AIRSPACE RESERVATION FOR UAV ACTIVITY WILL TAKE PLACE ON AREA
EMSA04
BOUNDED BY:
370924N 0072509W - 370923N 0072300W - 364555N 0072300W - 364555N 0080816W - 364544N 0083601W - 370235N 0083604W - 365929N 0080816W - 365653N 0080815W - 365402N 0075102W - 370924N 0072509W. ACTIVITY SUBJECT TO COORDINATION WITH FARO TWR.
F) SFC G) 1000FT AMSL

A0526/26
AIRSPACE RESERVATION FOR UAV ACTIVITY WILL TAKE PLACE ON AREA
EMSA05
BOUNDED BY:
370903N 0083624W - 370844N 0083530W - 370628N 0083646W - 365929N
0080816W - 370235N 0083604W - 370236N 0083615W - 370254N 0083902W
- 370638N 0083749W - 370903N 0083624W.
ACTIVITY SUBJECT TO COORDINATION WITH FARO TWR.
F) SFC G) 750FT AMSL

A0527/26
AIRSPACE RESERVATION FOR UAV ACTIVITY WILL TAKE PLACE ON AREA
EMSA06
BOUNDED BY:
362430N 0093612W - 355800N 0093614W - 355800N 0120000W - 362408N
0115959W - 362430N 0093612W.
ACTIVITY SUBJECT TO COORDINATION WITH LISBOA INFORMATION.
F) SFC G) 5000FT AMSL

A0528/26
AIRSPACE RESERVATION FOR UAV ACTIVITY WILL TAKE PLACE ON AREA
EMSA07
BOUNDED BY:
371558N 0095959W - 362438N 0095940W - 362408N 0115959W - 371543N
0120000W - 371558N 0095959W.
ACTIVITY SUBJECT TO COORDINATION WITH LISBOA INFORMATION.
F) SFC G) 5000FT AMSL

A0529/26
AIRSPACE RESERVATION FOR UAV ACTIVITY WILL TAKE PLACE ON AREA
EMSA08
BOUNDED BY:
375958N 0120000W - 375958N 0100000W - 371558N 0095959W - 371543N
0120000W - 375958N 0120000W.ACTIVITY SUBJECT TO COORDINATION WITH
LISBOA INFORMATION.
F) SFC G) 5000FT AMSL

A0530/26
AIRSPACE RESERVATION FOR UAV ACTIVITY WILL TAKE PLACE ON AREA
EMSA09
BOUNDED BY:
371558N 0095959W - 371543N 0085737W - 365654N 0090137W - 362446N
0090137W - 362430N 0093613W - 362438N 0095940W - 371558N 0095959W.
ACTIVITY SUBJECT TO COORDINATION WITH LISBOA INFORMATION.
F) SFC G) 5000FT AMSL

A0531/26
AIRSPACE RESERVATION FOR UAV ACTIVITY WILL TAKE PLACE ON AREA
EMSA10
BOUNDED BY:
375958N 0100000W - 375958N 0085424W - 375142N 0085558W - 374306N
0084857W - 372701N 0085138W - 371543N 0085737W - 371558N 0095959W
- 375958N 0100000W.
ACTIVITY SUBJECT TO COORDINATION WITH LISBOA INFORMATION.
F) SFC G) 5000FT AMSL

A0532/26
AIRSPACE RESERVATION FOR UAV ACTIVITY WILL TAKE PLACE ON AREA
EMSA11
BOUNDED BY:
370924N 0072509W - 370924N 0073030W - 370235N 0074300W - 365847N
0074300W - 370924N 0072509W.
ACTIVITY SUBJECT TO COORDINATION WITH FARO TWR.
F) SFC G) 1500FT AMSL

A0444/26
SR-SS
PARAGLIDING WILL TAKE PLACE AREA WI 16KM RADIUS CENTERED ON
415249N
0074313W (SERRA DO LAROUCO).
F) GND G) FL080
A6018/25
SR-SS
PARAGLIDING WILL TAKE PLACE AREA 16KM RADIUS CENTRED ON 413532N
0070255W (SERRA DE BORNES).
ACTIVITY SUBJECT TO COORDINATION WITH LISBON INFORMATION.
F) GND G) FL085
A6116/25
DAILY SR-SS
PARAGLIDING WILL TAKE PLACE WI AREA BOUNDED BY:
403152N 0072959W - 403145N 0072052W - 402434N 0072406W - 401507N
0073209W - 401519N 0073651W - 402153N 0073920W - 403152N 0072959W
(SERRA DA ESTRELA).
ACTIVITY SUBJECT TO COORDINATION WITH LISBON INFORMATION.
F) GND G) 1500FT AGL

==========
EXTENDED AREA AROUND DESTINATION ALTERNATE AIRPORT(S)
==========

LPPC LISBON FIR

Please see section EXTENDED AREA AROUND DESTINATION

==========
AREA ENROUTE DEPARTURE - DESTINATION
==========

LFFF FRANCE FIR/UIR

++++++++++++++++++++++++++++ FIR/UIR ++++++++++++++++++++++++++++++

P1024/26
WINDTURBINE NR E6011-2 LIGHTING **U/S** :
- PSN : 492941N 0022734E
- ELEV : 890FT
- HEIGHT : 414FT
F0450/26
0800-1700
RISK OF GNSS JAMMING :
- DISRUPTION OF THE SIGNAL RECEIVED BY GPS RECEIVERS WI THE
'MILLAU' REGION
- VOLUMES OF IMPACT CENTRED ON PSN 434952N 0024756E :
248NM AT FL400
197NM AT FL250
153NM AT FL150
125NM AT FL100
080NM AT 4000FT
- INFO **AVBL** WITH :
'MARINA' ('MONT DE MARSAN' CONTROL CENTRE) 143.550MHZ / 317.500MHZ
'RAMBERT' ('LYON MONT VERDUN' CONTROL CENTRE) 143.550MHZ /
317.500MHZ 'RAKI' ('CINQ MARS LA PILE' CONTROL CENTRE) 143.550MHZ
/ 317.500MHZ - IF GPS DISRUPTIONS ARE OBSERVED, REPORT INFORMATION
TO THE RELEVANT ATS.

F0489/26

FRENCH AIR CARRIERS AND CAPTAINS OF AIRCRAFT IN CHARGE OF AIR SERVICES OPERATED BY CARRIERS HOLDING AN OPERATING LICENSE ISSUED BY FRANCE, WHETHER THEY ARE CONTRACTUAL CARRIERS AND/OR OPERATING CARRIERS, OR PERFORMING AIR SERVICES THROUGH A WET LEASE OR A CODESHARE AGREEMENT AS WELL AS FOR ANY FLIGHT MADE WITH AN AIRCRAFT REGISTERED IN FRANCE ARE REQUESTED NOT TO PENETRATE INTO THE AIRSPACE OF OMAN (FIR MUSCAT (OOMM)), EXCEPT :
- MAINTAINING ALL TIMES A FLIGHT LEVEL ABOVE OR EQUAL TO FL320, FOR ROUTES LOCATED SOUTH OF THE SEGMENTS DEFINED BY THE FOLLOWING REPORTING POINTS, RESPECTING THE SEQUENCE BELOW :
DANOM 225454N450509E
KEDON 202516N555850E
VELOD 234617N573430E
THE AIR OPERATOR MUST CARRY OUT A ROBUST RISK ASSESSMENT TO ENSURE THAT THE FLIGHT CAN BE CONDUCTED UNDER SATISFACTORY SAFETY AND SECURITY CONDITIONS BEFORE ENTERING THIS AREA.

F0488/26

FRENCH AIR CARRIERS AND CAPTAINS OF AIRCRAFT IN CHARGE OF AIR SERVICES OPERATED BY CARRIERS HOLDING AN OPERATING LICENSE ISSUED BY FRANCE, WHETHER THEY ARE CONTRACTUAL CARRIERS AND/OR OPERATING CARRIERS, OR PERFORMING AIR SERVICES THROUGH A WET LEASE OR A CODESHARE AGREEMENT AS WELL AS FOR ANY FLIGHT MADE WITH AN AIRCRAFT REGISTERED IN FRANCE ARE REQUESTED NOT TO PENETRATE INTO THE AIRSPACE OF SAUDI ARABIA (FIR JEDDAH (OEJD)), EXCEPT
- FOR THE USE OF JEDDAH AERODROME (OEJN) AND TABUK AERODROME (OETB). - FOR ROUTES ON WHICH A FLIGHT LEVEL ABOVE OR EQUAL TO FL320 IS REQUESTED TO BE MAINTAIN AT ALL TIMES AND ARE LOCATED WEST OF THE SEGMENTS DEFINED BY THE FOLLOWING REPORTING POINTS, RESPECTING THE SEQUENCE BELOW :
OBSOT 295451N373455E
DANOM 225454N450509E
KEDON 202516N555850E
- FOR THE USE OF YENBO AERODROME (OEYN) AND TAIF AERODROME (OETF) AS ALTERNATE ONLY.
THE AIR OPERATOR MUST CARRY OUT A ROBUST RISK ASSESSMENT TO ENSURE THAT THE FLIGHT CAN BE CONDUCTED UNDER SATISFACTORY SAFETY AND SECURITY CONDITIONS BEFORE ENTERING THIS AREA AND BEFORE OPERATING FLIGHTS TO JEDDAH AIRPORT (OEJN).
THIS NOTAM SUPERSEDES THE RESTRICTIONS CONCERNING SAUDI ARABIA AIRSPACE (FIR JEDDAH (OEJD)) ISSUED IN PARAGRAPH 3.13 SAUDI ARABIA OF THE AIC NR 02/26 CURRENTLY IN EFFECT.

F0487/26

FRENCH AIR CARRIERS AND CAPTAINS OF AIRCRAFT IN CHARGE OF AIR SERVICES OPERATED BY CARRIERS HOLDING AN OPERATING LICENSE ISSUED BY FRANCE, WHETHER THEY ARE CONTRACTUAL CARRIERS AND/OR OPERATING CARRIERS, OR PERFORMING AIR SERVICES THROUGH A WET LEASE OR A CODESHARE AGREEMENT AS WELL AS FOR ANY FLIGHT MADE WITH AN AIRCRAFT REGISTERED IN FRANCE ARE REQUESTED NOT TO PENETRATE INTO THE ENTIRE AIRSPACE OF JORDAN (FIR AMMAN (OJAC

F0486/26

FRENCH AIR CARRIERS AND CAPTAINS OF AIRCRAFT IN CHARGE OF AIR SERVICES OPERATED BY CARRIERS HOLDING AN OPERATING LICENSE ISSUED BY FRANCE, WHETHER THEY ARE CONTRACTUAL CARRIERS AND/OR OPERATING CARRIERS, OR PERFORMING AIR SERVICES THROUGH A WET LEASE OR A CODESHARE AGREEMENT AS WELL AS FOR ANY FLIGHT MADE WITH AN AIRCRAFT REGISTERED IN FRANCE ARE REQUESTED NOT TO PENETRATE INTO THE ENTIRE AIRSPACE OF BAHRAIN (FIR BAHRAIN (OBBB

F0485/26
FRENCH AIR CARRIERS AND CAPTAINS OF AIRCRAFT IN CHARGE OF AIR SERVICES OPERATED BY CARRIERS HOLDING AN OPERATING LICENSE ISSUED BY FRANCE, WHETHER THEY ARE CONTRACTUAL CARRIERS AND/OR OPERATING CARRIERS, OR PERFORMING AIR SERVICES THROUGH A WET LEASE OR A CODESHARE AGREEMENT AS WELL AS FOR ANY FLIGHT MADE WITH AN AIRCRAFT REGISTERED IN FRANCE ARE REQUESTED NOT TO PENETRATE INTO THE ENTIRE AIRSPACE OF KUWAIT (FIR KUWAIT (OKAC)).

F0484/26
FRENCH AIR CARRIERS AND CAPTAINS OF AIRCRAFT IN CHARGE OF AIR SERVICES OPERATED BY CARRIERS HOLDING AN OPERATING LICENSE ISSUED BY FRANCE, WHETHER THEY ARE CONTRACTUAL CARRIERS AND/OR OPERATING CARRIERS, OR PERFORMING AIR SERVICES THROUGH A WET LEASE OR A CODESHARE AGREEMENT AS WELL AS FOR ANY FLIGHT MADE WITH AN AIRCRAFT REGISTERED IN FRANCE ARE REQUESTED NOT TO PENETRATE INTO THE ENTIRE AIRSPACE OF QATAR (FIR DOHA (OTDF)).

F0483/26
FRENCH AIR CARRIERS AND CAPTAINS OF AIRCRAFT IN CHARGE OF AIR SERVICES OPERATED BY CARRIERS HOLDING AN OPERATING LICENSE ISSUED BY FRANCE, WHETHER THEY ARE CONTRACTUAL CARRIERS AND/OR OPERATING CARRIERS, OR PERFORMING AIR SERVICES THROUGH A WET LEASE OR A CODESHARE AGREEMENT AS WELL AS FOR ANY FLIGHT MADE WITH AN AIRCRAFT REGISTERED IN FRANCE ARE REQUESTED NOT TO PENETRATE INTO THE ENTIRE AIRSPACE OF LEBANON (FIR BEIRUT (OLBB)).

F0482/26
FRENCH AIR CARRIERS AND CAPTAINS OF AIRCRAFT IN CHARGE OF AIR SERVICES OPERATED BY CARRIERS HOLDING AN OPERATING LICENSE ISSUED BY FRANCE, WHETHER THEY ARE CONTRACTUAL CARRIERS AND/OR OPERATING CARRIERS, OR PERFORMING AIR SERVICES THROUGH A WET LEASE OR A CODESHARE AGREEMENT AS WELL AS FOR ANY FLIGHT MADE WITH AN AIRCRAFT REGISTERED IN FRANCE ARE REQUESTED NOT TO PENETRATE INTO THE ENTIRE AIRSPACE OF UNITED ARAB EMIRATES (FIR EMIRATES (OMAE

F0481/26
FRENCH AIR CARRIERS AND CAPTAINS OF AIRCRAFT IN CHARGE OF AIR SERVICES OPERATED BY CARRIERS HOLDING AN OPERATING LICENSE ISSUED BY FRANCE, WHETHER THEY ARE CONTRACTUAL CARRIERS AND/OR OPERATING CARRIERS, OR PERFORMING AIR SERVICES THROUGH A WET LEASE OR A CODESHARE AGREEMENT AS WELL AS FOR ANY FLIGHT MADE WITH AN AIRCRAFT REGISTERED IN FRANCE ARE REQUESTED NOT TO PENETRATE INTO THE ENTIRE AIRSPACE OF IRAQ (FIR BAGHDAD (ORBB)).
THIS NOTAM SUPERSEDES THE RESTRICTIONS CONCERNING IRAQ AIRSPACE (FIR BAGHDAD (ORBB)) ISSUED IN PARAGRAPH 3.2 IRAQ OF THE AIC NR 02/26 CURRENTLY IN EFFECT.

F0480/26
FRENCH AIR CARRIERS AND CAPTAINS OF AIRCRAFT IN CHARGE OF AIR SERVICES OPERATED BY CARRIERS HOLDING AN OPERATING LICENSE ISSUED BY FRANCE, WHETHER THEY ARE CONTRACTUAL CARRIERS AND/OR OPERATING CARRIERS, OR PERFORMING AIR SERVICES THROUGH A WET LEASE OR A CODESHARE AGREEMENT AS WELL AS FOR ANY FLIGHT MADE WITH AN AIRCRAFT REGISTERED IN FRANCE ARE REQUESTED NOT TO PENETRATE INTO THE ENTIRE AIRSPACE OF IRAN (FIR TEHRAN (OIIX)).
THIS NOTAM SUPERSEDES THE RESTRICTIONS CONCERNING IRAN AIRSPACE (FIR TEHRAN (OIIX)) ISSUED IN PARAGRAPH 3.14 IRAN OF THE AIC NR 02/26 CURRENTLY IN EFFECT.

P1006/26
OBSTACLE NR E4503 LGT **U/S** (2 WIND TURBINES OUT OF 5)
RDL 119/10.6NM LFOC ARP
WIND TURBINES : E4503-4 AND E4503-5
MEAN PSN : 475815N 0013618E
HGT : 410FT AGL
ELEV : 814FT AMSL.

P0993/26
WINDFARM NR E1008 (RDL 323/12NM LFQB) LGT **U/S** (8 WINDTURBINES OUT OF 47) :
- MEAN PSN : 482901.30N 0034958.69E
- MAX HGT : 492FT
- MAX ELEV : 807FT.

P0990/26
OBST (PYLON) NR 10002 LIGHTING **U/S** - RDL 184/5.1NM LFFR ARP :
- PSN : 475856N 0042409E
- HEIGHT : 738FT
- ELEVATION : 1850FT.

P0968/26
MEASURING MAST 08601 LGT **U/S** (RDL136/6.3NM LFAP)
PSN : 492409.56N 0042838.91E
HGT : 329FT
ELEV : 724FT.

P0952/26
OBST MAST NR 80137 LIGHTING **U/S** :
- PSN : 495429N 0020441E
- HEIGHT : 403FT
- ELEVATION : 784FT.

P0941/26
OBSTACLES E2815-2 AND E2815-4 LIGHTS **U/S** (2 WINDTURBINES OUT OF 6) - RDL010/8.15NM LFOR ARP :
-PSN : 481929N 0012912E
-HEIGHT : 410FT
-ELEV : 899FT.

P0929/26
WIND TURBINE E5144-8 (RDL271/4.3NM ARP LFQK) LGT **U/S** :
- AVG PSN : 485423.48N 0041441.58E
- MAX HGT : 588FT
- MAX ELEV : 1006FT.

P0911/26
WINDTURBINE E0207-2 LIGHTS **U/S** :
-PSN : 494520N 0032349E
-ELEV : 741FT
-HEIGHT : 410FT.

P0908/26
WINDTURBINE E280D-12 LGT **U/S** - RDL125/13NM LFOR :
-PSN : 482007.52N 0014727.36E
-HGT : 388FT
-ELEV : 877FT.

P0905/26
OBSTACLE NR E2814-6 LIGHTS **U/S** :
-RDL326/33.44NM LFOZ
RDL131/6.3NM LFOR
-PSN : 482325N 0013834E
-HEIGHT : 410FT
-ELEV : 912FT.

P0902/26
WIND TURBINE E1001-10 LIGHTING **U/S** - RDL 218/11.2NM LFOK ARP :
- PSN : 483743.76N 0040153.49E
- HEIGHT : 413FT
- ELEVATION : 876FT.

P0892/26
WIND TURBINE NR E5208-8 LIGHTS **U/S** - RDL239/7.3NM LFFJ ARP :
-PSN : 481921.37N 0045906.56E
-HEIGHT : 397FT
-ELEV : 1588FT.

P0812/26
OBSTACLE NR 76168 LGT **U/S**
RDL 172/11.51 NM LFAE ARP
PSN 495237N 0012757E
HGT 404FT AGL
ELEV 833FT AMSL
P0785/26
OBSTACLE NR E280D-7 LIGHTING **U/S** (1 WINDTURBINE OUT OF 29) :
- RDL 155/11.74NM LFFL ARP
- PSN : 482011.06N 0014542.41E
- HEIGHT : 388FT
- ELEV : 874FT.
F0377/26
ATS SKED 'METZ NANCY LORRAINE' :
- MON-FRI : 0700-2030
- SAT : ATS NOT PROVIDED
- SUN : 1100-1800
- OTHER SKED : UPON 24HR PPR BY PHONE TO **AD** ADMINISTRATION.
P0681/26
OBST NR E6205 LIGHTING **U/S** - RDL 214/11.3NM ARP LFIS :
- PSN : 504337N 0013420E
- HEIGHT : 541FT
- ELEVATION : 564FT.
F0321/26
RUSSIA AND BELARUS RESTRICTIONS :
1- ALL AIRCRAFT REGISTERED IN RUSSIA OR OPERATED BY RUSSIAN AIR CARRIERS, INCLUDING AS A MARKETING CARRIER IN CODE-SHARING OR BLOCKED-SPACE ARRANGEMENTS OR OWNED, CHARTERED OR OPERATED BY A RUSSIAN NATURAL OR LEGAL PERSON, ENTITY OR BODY ARE PROHIBITED TO LAND IN, TAKE OFF FROM OR OVERFLY THE FRENCH SOVEREIGN AIRSPACE EXCEPT IN CASE OF EMERGENCY LANDING OR EMERGENCY OVERFLIGHT AND EXCEPT FOR FLIGHTS HOLDING A PERMISSION DELIVERED IN ACCORDANCE WITH THE APPROPRIATE EU REGULATION BY THE FRENCH AUTHORITIES
2- ALL AIRCRAFT OPERATED BY BELARUSIAN AIR CARRIERS, INCLUDING AS A MARKETING CARRIER IN CODE-SHARING OR BLOCKED-SPACE ARRANGEMENTS, ARE PROHIBITED TO LAND IN, TAKE OFF FROM OR OVERFLY THE FRENCH SOVEREIGN AIRSPACE
EXCEPT IN CASE OF EMERGENCY LANDING OR EMERGENCY OVERFLIGHT AND EXCEPT FOR FLIGHTS HOLDING A PERMISSION DELIVERED IN ACCORDANCE WITH THE APPROPRIATE EU REGULATION BY THE FRENCH AUTHORITIES
3- IT SHALL BE PROHIBITED TO PARTICIPATE, KNOWINGLY AND INTENTIONALLY, IN ACTIVITIES THE OBJECT OR EFFECT OF WHICH IS TO CIRCUMVENT THESE PROHIBITIONS.
P0645/26
MODIFICATION COORDONNEES TOUR 53014 A PRE-EN-PAIL-ST-SAMSON
RDL 271/10.33NM ARP LFOF ALENCON-VALFRAMBERT
PSN: 482657N 0000903.49W
HAUT: 201FT
ALT AU SOMMET: 1546FT
BALISAGE: NIL
REF AIP FRANCE DATASET ENR 5.4
P0599/26
OBSTACLE NR 45011 LIGHTING **U/S** - RDL 262/1.5NM HSPS ARP :
- PSN : 475605N 0015023E
- HEIGHT : 240FT
- ELEVATION : 663FT.
P0593/26
OBST NR 41061 LIGHTING **U/S** - RDL 324/16.1NM LFOQ ARP :
- PSN : 475345N 0005823E
- HEIGHT : 391FT
- ELEVATION : 855FT.

P0555/26
WINDTURBINE E0214-11 LIGHTING **U/S** :
- PSN : 495556N 0034134E
- HEIGHT : 493FT
- ELEVATION : 992FT.

P0366/26
WINDTURBINE E8092-6 LIGHTING **U/S** :
PSN : 495023N 0024637E
ELEV : 787FT
HEIGHT : 492FT.

P0359/26
WINDTURBINE E760H-5 LGT **U/S** RDL 002/9.75NM LFFY:
PSN: 492805.54N 0013845.32E
HGT 410FT
ELEV 1148FT

P0069/26
OBST NR 59096 LIGHTING **U/S** - RDL 007/10NM LFQT ARP :
- PSN : 504657.79N 0024016.17E
- HEIGHT : 690FT
- ELEVATION : 1250FT.

P0045/26
OBST NR 18005 (PYLON) LGT **U/S** - RDL140.5/14.7NM LFEH ARP:
- PSN: 471726.35N 0023726.78E
- HGT: 758FT
- ELEV: 2100FT

P0016/26
WINDFARM E7201 AT 'JUILLE' (72) : WINTURBINES E7201-5 E7201-6
LGT **U/S** RDL175/11.6NM LFOF
E7201-5 : 481514.92N 0000810.33E
E7201-6 : 481506.39N 0000752.95E
HGT : 476FT
ELEV : 768FT

F1774/25
VFR PROHIBITED ABOVE FL115 WITHIN SECTORS CONTROLLED BY PARIS
CTL EXC FOR SPECIAL ACT AUTHORIZED BY PARIS CTL.

F1665/25
EUROCONTROL LOGON LIST FUNCTIONALITY SET UP FOR THE EN-ROUTE
CENTRES OF BORDEAUX ACC, BREST ACC, MARSEILLE ACC, PARIS ACC AND
REIMS ACC.
ONLY AIRCRAFT VALIDATED BY EUROCONTROL IN THE LOGON LIST CAN
CONNECT TO THE CPDLC SERVICES OF THESE ACC.

F1418/25
DUE TO A TECHNICAL UPDATE,SOME PHONE NUMBERS OF THE
'CINQ-MARS-LA-PILE' CTL AND DETECTION CENTER '(CDC)' ARE CHANGING.
ONLY THE FLW PHONE NUMBERS HAVE TO BE USED :
'CSCAM': +33 2.45.34.16.02 (862 927 1602)
'BIV': +33 2.45.34.16.03 (862 927 1603)
'MC': +33 2.45.34.16.05 (862 927 1605) AND +33 2.45.34.16.06 (862
927 1606)
'TPO': +33 2.45.34.16.09 (862 927 1609)
'OMC': +33 2.45.34.16.10 (862 927 1610)
'FA': +33 2.45.34.16.11 (862 927 1611)
'OPS MANAGER' : +33 2.45.34.14.00 (862 927 1400)
'CDC CINQ MARS LA PILE POC' : +33 2 45 34 28 63

H0214/25
CREATION OF 'HELISTATION AIR TOURAINE'
AT NEUVY LE ROY
PSN : 473450N 0003618E
ALTITUDE : 310FT
AXIS : 070/250
FATO = TLOF (3.6T) : 20 X 20M
LGT : NIL
REF **AD** 1.3
F0627/25
APPLICATION OF THE NEW EUROPEAN REGULATION IR SERA 2024/404 IN FORCE
ON MAY 1ST, 2025 WITH THE INTRODUCTION OF POINT SERA.14083 RELATING TO PROCEDURES IN CASE OF RADIO COMMUNICATION FAILURE.
MODIFICATION OF RADIO FAILURE PROCEDURE : INTRODUCTION OF THE NEW EMERGENCY CODE 7601 AND MODIFICATION OF THE 7-MINUTE RULE TO 20 MINUTES.
REF AIP ENR1.1
F0311/25
TRIGGER NOTAM - AIRAC AIP SUP 024/25.
CREATION OF 5 TRANSPONDER MANDATORY ZONES (TMZ) ASSOCIATED TO TOURS VAL DE LOIRE **AD** (LFOT).
THIS AIP SUP IS **AVBL** AT WWW.SIA.AVIATION-CIVILE.GOUV.FR
F0441/25
TRIGGER NOTAM - AIP SUP 037/25
CREATION OF EXPERIMENTAL TRANSIT CORRIDORS FOR OVERFLIGHTS OF THE 'PARC NATIONAL DE FORETS NR 021'
THIS AIP SUP IS **AVBL** AT WWW.SIA.AVIATION-CIVILE.GOUV.FR

++++++++++++++++++++++++++++ WAYPOINT ++++++++++++++++++++++++++++

F0251/26
TRIGGER NOTAM - AIRAC AIP SUP 016/26 :
AMENDMENT OF THE AIP FRANCE SECTION ENR 6.2 MAP WITH THE IMPLEMENTATION OF THE FRANCE FRA NORD CELL (LFFRAN).
THIS AIP SUP IS **AVBL** AT WWW.SIA.AVIATION-CIVILE.GOUV.FR
F0244/26
FRANCE FREE ROUTE AIRSPACE - NORTH EAST CELL (LFFRANE) - SIGNIFICANT POINT BELOW FRA FUNCTION MODIFIED.
READ :
-ENORI=FRA(AI): LFFRANE, LFPG, FL195-660
-REF AIP ENR 4.4
F0117/26
VOR 'BNE' 113.800MHZ **U/S** DUE TO FAILURE
F1805/25
FRANCE FREE ROUTE AIRSPACE - NORTH EAST CELL (LFFRANE) - SIGNIFICANT POINT BELOW FRA FUNCTIONS MODIFIED.
READ :
- OKRIX= FRA(ID) : LFFRANE, LFLA, LFOK, LFQB, LFQA, LFSI, LFOA, LFQG, LFLD, LFOJ, LFOZ, LFLC, LFLV, FL195-660
- REF AIP ENR 4.4

++++++++++++++++++++++ RESTRICTED AIRSPACE ++++++++++++++++++++++

Z0162/26 VALID: 20-MAR-26 0830 - 20-MAR-26 1100
ZONES AIRFORCE RTBA ACT
ZONE R45A BOURGOGNE
0900-1100:ACTIVE
ZONE R45B AUTUNOIS
0900-1100:ACTIVE
ZONE R45C ARBOIS
0900-1100:ACTIVE
ZONE R45S1 FRANCHE COMTE
0830-1100:ACTIVE
ZONE R45S2 LANGRES
0830-1100:ACTIVE
ZONE R45S3 YONNE
0830-1100:ACTIVE
ZONE R45S4 MACONNAIS OUEST
0830-1100:ACTIVE
ZONE R45S5 MACONNAIS CENTRE
0830-1100:ACTIVE
ZONE R45S6.1 MACONNAIS NORD EST
0830-1100:ACTIVE
ZONE R45S6.2 MACONNAIS SUD EST
0830-1100:ACTIVE
ZONE R45S7 JURA
0830-1100:ACTIVE
ZONE R45NS DAMBLAIN
0830-1100:ACTIVE
F) SFC G) FL085
R0826/26
RESTRICTED AREA LF CBA-16B **ACTIVATED**.
F) FL065 G) FL115
R0446/26
TRIGGER NOTAM - AIRAC AIP SUP 023/26 :
CREATION OF TWO TEMPORARY RESERVED AREAS (TRA) IN UIR, TRA90NL AND TRA90NH, AND ASSOCIATED FBZ.
THIS AIP SUP IS **AVBL** AT WWW.SIA.AVIATION-CIVILE.GOUV.FR
F) FL195 G) FL335
R0799/26 VALID: 18-MAR-26 0800 - 20-MAR-26 1100
WED THU 0800-1100 1900-2359, FRI 0800-1100
AIP SUP 094/25 - ZRT ROMORANTIN A B C D ACT :
ACTUAL ACT SLOTS AND AREAS **ACTIVATED** : CONTACT BRICY APP 122.700MHZ. F) SFC G) FL250
R0608/26
TRIGGER NOTAM - AIP SUP 033/26 :
CREATION OF 3 TEMPORARY RESTRICTED AREAS ('ZRT') FOR THE 'ARGONNE 3' EXERCISE IN THE 'CHAUMONT' REGION.
THIS AIP SUP IS **AVBL** AT WWW.SIA.AVIATION-CIVILE.GOUV.FR
F) SFC G) 1000FT AGL

R0564/26

TEMPORARY RESTRICTED AREA (ZRT) 'ZRT SOMME 2' :
-DESCRIPTION :
-UNMANNED ACFT FLIGHTS, BEYOND VISUAL LINE OF SIGHT,
-ZRT MAY BE **ACTIVATED** H24 WITH A 24HR PN,
-ZRT CENTRE : RDL302/8.5NM LFOI ARP
1-LATERAL LIMITS :
501654N 0013537E
501457N 0014121E
501012N 0014150E
501040N 0013207E
501654N 0013537E
2-VERTICAL LIMITS :
SR-30 / SS+30 : 500FT ASFC
SS+30 / SR-30 : 1500FT AMSL
3-STATUS :
TEMPORARY RESTRICTED AREA (ZRT) REPLACES THE OVERLAPPING AIRSPACE PARTS, EXCEPT RESTRICTED AREA LF-R400D 'DEP HOURDEL'.
4-SERVICES PROVIDED :
FLIGHT INFORMATION AND ALERT ARE PROVIDED BY 'LILLE INFO'.
5-OAT/GAT ENTRY CONDITIONS :
COMPULSORY AREA AVOIDANCE DURING ZRT ACTIVITY EXCEPT FOR :
-ACFT INVOLVED IN THE EXERCISE,
-AERIAL-WORK COMPANIES ACFT WITH A SPECIAL PERMISSION FROM FLIGHT HEIGHT RESTRICTIONS FOR ESSENTIAL OPERATIONS AFTER COORDINATION WITH THE RELEVANT AUTHORITY,
-ACFT ON MIL, CUSTOMS, POLICE, SEARCH AND RESCUE, FIREFIGHTING, MEDICAL TRANSPORT OPERATIONS WHEN FORCED TO ENTER THE AREA AFTER COORDINATION WITH THE RELEVANT AUTHORITY.
6-RELEVANT AUTHORITY :
-'COMFAG'
-PHONE : +33 630 089 289
: +33 145 373 137 / +33 145 373 139
7-INFO :
ACTUAL TIMES OF ACTIVITY ANNOUNCED ON 'LILLE INFO' 132.540MHZ
F) SFC G) 1500FT AMSL

R0566/26
TEMPORARY RESTRICTED AREA (ZRT) 'ZRT SOMME 1' :
-DESCRIPTION :
-UNMANNED ACFT FLIGHTS, BEYOND VISUAL LINE OF SIGHT,
-ZRT MAY BE **ACTIVATED** H24 WITH A 24HR PN,
-ZRT CENTRE : RDL195/17NM LFAT ARP
1-LATERAL LIMITS :
500803N 0012616E
502318N 0013347E
502136N 0013816E
500736N 0013008E
500803N 0012616E
2-VERTICAL LIMITS :
SR-30 / SS+30 : SFC / 500FT ASFC
SS+30 / SR-30 : SFC / 1500FT AMSL
3-STATUS :
TEMPORARY RESTRICTED AREA (ZRT) REPLACES THE OVERLAPPING AIRSPACE PARTS, EXCEPT RESTRICTED AREAS LF-R400E 'DEP AULT' AND LF-R400D 'DEP HOURDEL' (SUP AIP 215/25).
4-SERVICES PROVIDED :
FLIGHT INFORMATION AND ALERT ARE PROVIDED BY 'LILLE INFO'.
5-OAT/GAT ENTRY CONDITIONS :
COMPULSORY AREA AVOIDANCE DURING ZRT ACTIVITY EXCEPT FOR :
-ACFT INVOLVED IN THE EXERCISE,
-AERIAL-WORK COMPANIES ACFT WITH A SPECIAL PERMISSION FROM FLIGHT HEIGHT RESTRICTIONS FOR ESSENTIAL OPERATIONS AFTER COORDINATION WITH THE RELEVANT AUTHORITY
-ACFT ON MIL, CUSTOMS, POLICE, SEARCH AND RESCUE, FIREFIGHTING, MEDICAL TRANSPORT OPERATIONS WHEN FORCED TO ENTER THE AREA AFTER COORDINATION WITH THE RELEVANT AUTHORITY.
6-RELEVANT AUTHORITY :
-'COMFAG'
-PHONE : +33 630 089 289
PHONE : +33 145 373 137 / +33 145 373 139
7-INFO :
ACTUAL TIMES OF ACTIVITY ANNOUNCED ON 'LILLE INFO' 132.540MHZ
F) SFC G) 1500FT AMSL

R0704/26
MAR 12 13 16-20 23-27 30 31 APR 01-03 SR-SS
RESTRICTED AREA LF-R602 'ABLIS' **ACTIVATED**
ACTUAL ACTIVITY ANNOUNCED ON 'PARIS INFO' 126.100MHZ OR 129.625MHZ. F) SFC G) 2500FT AMSL

R0441/26
TRIGGER NOTAM - AIP SUP 018/26 :
CREATION OF A TEMPORARY RESTRICTED 'ZRT DRONE COURTALAIN' DUE TO OUT OF SIGHT UNMANNED ACFT FLIGHTS IN 'CENTRE' REGION ACTIVABLE BY NOTAM WITH 48HR NOTICE.
THIS AIP SUP IS **AVBL** AT WWW.SIA.AVIATION-CIVILE.GOUV.FR
F) SFC G) 500FT AGL

R0445/26
TRIGGER NOTAM - AIP SUP 022/26 :
CREATION OF A TEMPORARY RESTRICTED AREA 'ZRT CUIRASSIER' IN THE ORLEANS BRICY REGION.
THE ZRT CAN BE **ACTIVATED** BY NOTAM WITH NOTICE OF 48HR.
THIS AIP SUP IS **AVBL** AT WWW.SIA.AVIATION-CIVILE.GOUV.FR
F) SFC G) 2100FT AMSL

R0444/26
TRIGGER NOTAM - AIP SUP 021/26 :
CREATION OF A TEMPORARY RESTRICTED AREA 'ZRT ARGENTAN' FOR UNMANNED AIRCRAFTS SURVEYS, OPERATING OUT OF SIGHT, IN THE ARGENTAN AREA (A88 FREEWAY).
ZRT ACTIVABLE BY NOTAM WITH 10 DAYS NOTICE.
THIS AIP SUP IS **AVBL** AT WWW.SIA.AVIATION-CIVILE.GOUV.FR
F) SFC G) 400FT AGL

R0034/26
NO-FLY ZONE NR660 'CLAIRVAUX' DETENTION CENTRE **WITHDRAWN**
PSN : 480900N 0044700E
F) SFC G) 3300FT AGL

W2675/25
MODEL FLYING ACTIVITY N8071 SAINT FLORENTIN CHEU AERODROME **WITHDRAWN**
PSN: 475920N 0034605E
REF AIP FRANCE ENR 5.5
F) SFC G) 500FT AGL

W2676/25
MODEL FLYING ACTIVITY N8212 SOUCY (89) **WITHDRAWN**
PSN: 481421N 0031725E
REF AIP FRANCE ENR 5.5
F) SFC G) 1300FT AMSL

W2677/25
MODEL FLYING ACTIVITY N8542 VONCQ (08) **WITHDRAWN**
PSN: 492739N 0044003E
REF AIP FRANCE ENR 5.5
F) SFC G) 800FT AMSL

R3088/25
TRIGGER NOTAM - AIP SUP 205/25 :
SPECIAL AVIATION SECURITY MEASURES ABOVE THE PARIS REGION REQUIRING THE CREATION OF 2 TEMPORARY RESTRICTED AREAS ('ZRT PO ALPHA' AND 'ZRT PO BRAVO').
THE 'ZRT' CAN BE **ACTIVATED** BY NOTAM WITH 72HR PRIOR NOTICE.
THIS AIP SUP IS **AVBL** AT WWW.SIA.AVIATION-CIVILE.GOUV.FR
F) FL205 G) FL225

R3164/25
TRIGGER NOTAM - AIP SUP 212/25 :
CREATION OF A TEMPORARY RESTRICTED AREA (ZRT HIRSON) FOR DAY AND NIGHT OUT-OF-SIGHT UNMANNED FLIGHTS, IN THE HAUTS DE FRANCE AREA.
THIS AIP SUP IS **AVBL** AT WWW.SIA.AVIATION-CIVILE.GOUV.FR
F) SFC G) 400FT AGL

R3166/25
TRIGGER NOTAM - AIP SUP 214/25 :
DAILY AND NIGHTLY OUT OF SIGHT UNMANNED ACFT FLIGHTS IN THE 'HAUTS DE FRANCE' AREA REQUIRING THE CREATION OF A TEMPORARY RESTRICTED AREA ('ZRT AIRGHT').
THIS AIP SUP IS **AVBL** AT WWW.SIA.AVIATION-CIVILE.GOUV.FR
F) SFC G) 400FT AGL

R3167/25
TRIGGER NOTAM - AIP SUP 215/25 :
CREATION OF 14 TEMPORARY RESTRICTED AREAS (ZRT) AND 4 TEMPORARY **DANGER** AREAS (ZDT) FOR UNMANNED AIRCRAFT FLYING OUT OF SIGHT OVER THE EASTERN CHANNEL AND THE ENGLISH CHANNEL STRAIT.
THIS AIP SUP IS **AVBL** AT WWW.SIA.AVIATION-CIVILE.GOUV.FR
F) SFC G) 1500FT AMSL

W2579/25
MODEL FLYING ACTIVITY AT 'DAMMARTIN-EN-SERVE' (78)
- RDL 194/10.1NM ARP LFFC
- RDL 291/11.9NM ARP LFPF
- PSN : 485451N 0013740E
- UPPER LIMIT : 1000FT AGL (1400FT AMSL)
- SKED : SR-SS
REF AIP FRANCE ENR 5.5
F) SFC G) 1400FT AMSL

W2578/25
MODEL FLYING ACTIVITY AT 'BARZY-SUR-MARNE' (02)
- RDL 079/7.6NM ARP LFFH :
- PSN : 490525N 0033246E
- SKED : 0800-1800 (SUMMER -1HR)
- BY DAY ONLY
REF AIP FRANCE ENR 5.5
F) SFC G) 400FT AGL

W2571/25
MODEL FLYING ACTIVITY AT 'ELETOT'
- RDL 252/8NM ARP LFOS :
- PSN : 494718N 0002607E
- SKED : SR-SS
- SLOPE FLYING
REF AIP FRANCE ENR 5.5
F) SFC G) 200FT AGL

R2442/25
TUE-THU SR-1400
TEMPORARY RESTRICTED AREA ('ZRT') NAMED 'BASE DREUX SENONCHES' :
UA (DRONE) FLIGHTS ACTIVITY
1/LATERAL LIMITS :
01NM RADIUS CIRCLE CENTERED ON 483842N 0010559E
2/STATUS :
'ZRT' AREA, WHEN **ACTIVE**, REPLACES OVERLAPING AIRSPACE.
3/ PROVIDED SERVICES :
FLIGHT INFORMATION AND ALERT PROVIDED BY SEINE INFO OR PARIS CTL OR LILLE INFO
4/OAT/GAT ENTRY CONDITIONS :
COMPULSORY AREA BYPASS EXC FOR ACFT :
- UNMANNED IMPLEMENTED BY OPERATIONS MANAGER
- CARRYING OUT MIL, CUSTOMS, POLICE, SAR, FIRE FIGHTING, MEDICAL TRANSPORT MISSIONS WHEN FORCED TO ENTER THE 'ZRT' AREA, AFTER COORDINATION WITH OPERATIONS MANAGER - PHONE : +33 7 64 86 92 53
5/ACTUAL ACT **AVBL** WITH :
LILLE INFO : 134.825MHZ
SEINE INFO : 127.815MHZ (DURING SEINE ATS SKED)
6/SPECIAL PROVISIONS :
AEROBATICS ACT NR 6206 'DREUX SENONCHES' **SUSPENDED** WHEN 'ZRT' AREA **ACTIVE**.
F) SFC G) 2600FT AMSL

R2399/25
TEMPO PROHIBITED AREA (ZIT) 'SUIPPES MOURMELON 1' - ANTI DRONE STRUGGLE :
1. LATERAL LIMITS :
SAME AS LF-R175A 'SUIPPES' (REF AIP ENR 5.1)
2. STATUS :
ZIT WHICH COEXISTS WITH OVERLAPPING AIRSPACES, EXCLUDING LF-R503 MOURMELON STAT WHEN **ACTIVATED**.
3. ENTRY CONDITIONS :
- ENTRY PROHIBITED TO ANY UNMANNED ACFT, EXC UNMANNED ACFT PERFORMING MIL, CUSTOMS, POLICE, SEARCH AND RESCUE, FIRE-FIGHTING OR MEDICAL TRANSPORTATION ACT WHEN FORCED TO ENTER.
- EXEMPTION SUBMITTED TO MANAGER AGREEMENT WITH PN 05 DAYS.
4. PROVIDED SERVICES :
SERVICES ARE PROVIDED IN ACCORDANCE WITH AIRSPACES CLASSES WITH WHICH ZIT COEXISTS.
5. AUTHORITY TO CONTACT :
- 51RI / PC TIR
- TEL : +333.26.67.81.00
F) SFC G) 500FT AGL

R2488/25
TEMPO PROHIBITED AREA (ZIT) 'SUIPPES MOURMELON 2' - ANTI DRONE FIGHTS :
1. LATERAL LIMITS :
490752N 0042227E,
0.8NM RADIUS CLOCKWISE ARCUS CENTRED ON 490801N 0042112E,
490810N 0042000E,
490752N 0042227E.
2. STATUS :
ZIT WHICH COEXISTS WITH OVERLAPPING AIRSPACES, EXCLUDING LF-R503 'MOURMELON STAT' WHEN **ACTIVATED**.
3. ENTRY CONDITIONS :
- ENTRY PROHIBITED TO ANY UNMANNED ACFT, EXC UNMANNED ACFT PERFORMING MIL, CUSTOMS, POLICE, SEARCH AND RESCUE, FIRE-FIGHTING OR MEDICAL TRANSPORTATION ACT WHEN FORCED TO ENTER.
- EXEMPTION SUBMITTED TO MANAGER AGREEMENT WITH PN 05 DAYS
4. PROVIDED SERVICES :
SERVICES ARE PROVIDED IN ACCORDANCE WITH AIRSPACES CLASSES WITH WHICH ZIT COEXISTS.
5. AUTHORITY TO CONTACT :
- 51RI / PC TIR
- TEL : +333.26.67.81.00
F) SFC G) 500FT AGL

R2569/25
TEMPO PROHIBITED AREA (ZIT) 'MAILLY' - ANTI DRONE MEASURES :
1. LATERAL LIMITS :
SAME AS LF-R6A (REF AIP ENR 5.1)
2. STATUS :
'ZIT' WHICH COEXISTS WITH OVERLAPPING AIRSPACES
3. ENTRY CONDITIONS :
- ENTRY PROHIBITED TO ANY UNMANNED ACFT, EXC UNMANNED ACFT IN STATE MISSION (DEFENCE, 'GENDARMERIE', POLICE, CUSTOM, RFFS, CIVIL SAFETY AND RESCUE)
- EXEMPTION SUBMITTED TO MANAGER AGREEMENT WITH PN 05 OPENING DAYS
4. PROVIDED SERVICES :
SERVICES ARE PROVIDED IN ACCORDANCE WITH PARTS OF AIRSPACES CLASSE WITH WHICH 'ZIT' COEXISTS
5. AUTHORITY TO CONTACT (MANAGER) :
- CENTAC MAILLY
- TEL : +333 10 10 81 75 OR +333 10 10 82 22 OR +336 72 28 64 93.
F) SFC G) 500FT AGL

R2474/25
TRIGGER NOTAM - AIP SUP 176/25 MODIFIED :
OUT-OF-SIGHT UNMANNED FLIGHTS WITHIN THE SOUTHERN REGION OF 'CHARTRES', REQUIRING THE CREATION OF A TEMPORARY RESTRICTED AREA ('ZRT DRONE').
ZRT ACTIVABLE BY NOTAM WITH A MINIMUM OF 48HR NOTICE.

MODIFICATION :
ADD, IN 'LATERAL LIMITS' ITEM, THE COORDINATES 481902N 0015055E, AT THE END OF THE COORDINATES

THIS AIP SUP IS **AVBL** AT WWW.SIA.AVIATION-CIVILE.GOUV.FR
F) SFC G) 500FT AGL

R2497/25
ZONE LF-R574 A AUVOURS MODIFIED (REF AIP FRANCE ENR 5.1):
HOURS MODIFIED : POSSIBLE ACTIVATION H24
F) SFC G) FL055

R2501/25
TEMPORARY RESTRICTED AREA ('ZRT') 'LF-R-574 C TEMP AUVOURS' FOR DEFENCE ACT, OUT OF VIEW STATE DRONE FLT
ZRT CENTER : RDL 065/7NM LFRM ARP
1 - LATERAL LIMITS :
480023N 0002101E
480023N 0002148E
475917N 0002148E
475917N 0002101E
480023N 0002101E
EXC LF-R574 A AUVOURS WHEN **ACTIVE**
2 - STATUS : TEMPORARY RESTRICTED AREA'LF-R-574 C TEMP AUVOURS' WHEN **ACTIVE**, REPLACES OVERLAPING AIRSPACE PARTS.
3 - PROVIDED SERVICES :
FLIGHT INFORMATION AND ALERT PROVIDED BY USUAL ORGANISMS
4 - OAT/GAT ENTRY CONDITIONS :
COMPULSORY AREA AVOIDANCE DURING ACT EXCEPT FOR :
- ACFT AUTHORISED BY MANAGER
- ACFT ON MIL, CUSTOMS, POLICE, SEARCH AND RESCUE, FIREFIGHTING, MEDICAL TRANSPORT OPERATIONS WHEN FORCED TO ENTER AREA, AFTER COORDINATION WITH MANAGER (+33 2 43 54 62 38 OR +33 2 43 54 62 42). 5 - MANAGER - AUHTORITY TO BE CONSULTED :
2 EME RIMA : +33 2 43 54 62 38 OR +33 2 43 54 62 42
6 - REAL ACT KNOWN BY
- MANAGER : +33 2 43 54 62 38 (ANSWERING DEVICE OUTSIDE OPENING HOURS)
- NANTES INFO : 130.275MHZ
- SEINE INFO : 127.815MHZ
- LE MANS INFO : 125.905MHZ
F) SFC G) FL055

R2339/25
TRIGGER NOTAM - AIP SUP 091/24 MODIFIED :
CREATION OF 94 TEMPORARY RESTRICTED AREAS ('ZRT') AND OF 4
TEMPORARY DANGEROUS AREAS ('ZDT'). THESE AREAS WILL BE **ACTIVATED**
BY NOTAM.

MODIFICATIONS :
1)PAGE 1
RELEVANT AUTHORITIES CONTACT DETAILS DURING OPERATION :
MIL CTL AND REPORTING CENTRE (CRC) OF CINQ-MARS-LA-PILE - PHONE :
+33 2 45 34 15 67
MIL CTL AND REPORTING CENTRE (CRC) OF MONT DE MARSAN : WITHOUT ANY
CHANGE
'EACA ROISSY' : WITHOUT ANY CHANGE
2)PAGE 18
ADD 'ZRT COTENTIN HIGH' :
-LATERAL LIMITS :
500000N 0010706W
500000N 0005922W
491619N 0005714W
491637N 0010525W
500000N 0010706W
-VERTICAL LIMITS :
FL205/FL215
-ACTUAL TIME SLOTS PROVIDED BY :
BREST CTL (SECTEUR JS) : 127.385MHZ

THIS AIP SUP IS **AVBL** AT WWW.SIA.AVIATION-CIVILE.GOUV.FR
F) FL095 G) FL215
R2096/25
TRIGGER NOTAM - AIP SUP 159/25 : WEAPON AIRCRAFT TRAINING
REQUIRING
THE CREATION, ON AN EXPERIMENTAL BASIS, OF 3 TEMPORARY RESTRICTED
AREAS IN THE SAINT-DIZIER REGION.
THIS AIP SUP IS **AVBL** AT WWW.SIA.AVIATION-CIVILE.GOUV.FR
F) FL065 G) FL195
R1851/25
TEMPORARY RESTRICTED AREA (ZRT) OVER 'LE DOMAINE DE CHAMBORD'
1. LATERAL LIMITS :
1NM RADIUS CIRCLE CENTRED ON 473702N 0013106E
EXCEPT AREA LF-R149A WHEN **ACTIVATED**
2. STATUS :
ZRT REPLACES THE OVERLAPPING AIRSPACE PARTS.
3. SERVICES PROVIDED :
FLIGHT INFORMATION AND ALERT PROVIDED BY SEINE INFO OR PARIS INFO
4. GAT/OAT ENTRY CONDITIONS : MOTOR-PROPELLED ACFT :
COMPULSORY AREA AVOIDANCE EXCEPT FOR:
- ACFT ON MIL ACTIVITY, CUSTOMS, POLICE, RESEACH, RESCUE
,FIRE FIGHTING AND MEDICAL TRANSPORT OPERATIONS WHEN FORCED TO
ENTER THE ZRT.
- ACFT IN IFR RNP 30 PROCEDURE ON 'BLOIS LE BREUIL' **AD** (LFOQ)
- ACFT AUTHORIZED BY 'LE PREFET DU LOIR ET CHER' AFTER NOTICE OF
'DSAC OUEST' AND OF THE 'DOMAINE NATIONAL DE CHAMBORD' GENERAL
MANAGER
- MODEL FLYING ACTIVITY NR8272 'VINEUIL'
5. INFO FOR AIR USERS :
SEINE INFO 127.815MHZ (DURING ATS SKED)
PARIS INFO 129.625MHZ (OUTSIDE 'SEINE' ATS SKED)
F) SFC G) 2600FT AMSL

R1655/25
TEMPORARY RESTRICTED AREA (ZRT) CLOSE TO FORGES LES EAUX:
UNMANED ACFT FLIGHT OUT OF SIGHT
1/ LATERAL LIMITS:
4.3 NM RADIUS CIRCLE CENTRED ON 493611N 0013124E
2/STATUS:
ZRT WHICH, WHEN **ACTIVATED**, REPLACES THE OTHER OVERLAPPING AIRSPACE PARTS.
3/PROVIDED SERVICES :
FLIGHT INFORMATION AND ALERT PROVIDED BY 'LILLE INFO' OR 'BEAUVAIS INFO'
4/ OAT/GAT ENTRY CONDITIONS :
COMPULSORY AVOIDANCE DURING ACTUAL ACTIVITY EXC :
-UNMANED ACFT PARTICIPATED TO OPERATION
-ACFT PERFORMING MILITARY, CUSTOMS, POLICE, SEARCH AND RESCUE, FIRE FIGHTING, MEDICAL TRANSPORTATION OPERATIONS WHEN FORCED TO ENTER AFTER COODINATION WITH OPERATION DIRECTOR(TEL: +33 279 580 040) 5/ACTUAL ACTIVITY KNOWN BY :
LILLE INFO: 134.825MHZ
BEAUVAIS APP: 123.985MHZ
F) SFC G) 400FT AGL

W1335/25
AEROBATICS ACTIVITY NR6457 'SAINCAIZE' (58) **WITHDRAWN**
PSN : 465600N 0030400E
REF ENR5.5
F) 2500FT AGL G) 4500FT AGL

R1350/25
TRIGGER NOTAM - AIP SUP 111/25.
UNMANNED STATE ACFT OVER 'SALBRIS' AREA REQUIRING THE CREATION OF A TEMPORARY RESTRICTED AREA ('ZRT DRONES').
'ZRT' ACTIVATION BY NOTAM WITH 48HR PRIOR NOTICE.
THIS AIP SUP IS **AVBL** AT WWW.SIA.AVIATION-CIVILE.GOUV.FR
F) SFC G) 3400FT AMSL

R1126/25
TRIGGER NOTAM - AIP SUP 094/25 :
PARACHUTING WITH CANOPY DRIFTING IN THE ROMORANTIN AREA REQUIRING THE CREATION OF 4 TEMPORARY RESTRICTED AREAS.
THIS AIP SUP IS **AVBL** AT WWW.SIA.AVIATION-CIVILE.GOUV.FR
F) SFC G) FL285

R1172/25
TRIGGER NOTAM - AIP SUP 088/25 MODIFIED :
UAV FLIGHTS IN CHAUMONT, MAILLY, SUIPPES AND SISSONNE REGIONS
REQUIRING THE CREATION OF A 5 TEMPORARY RESTRICTED AREAS.
THESE AREAS CAN BE **ACTIVATED** FROM MON 05H00 TO FRI 11H00 (SUM :
-1HR) EXCEPT ON PUB HOL, BY A D-7 PRIOR NOTICE NOTAM.

--- 'ZRT TRANSIT B', HAND AMEND THE COORDINATES OF THE POINT AFTER
THE FIRST ARC OF CIRCLE :
READ 483250N 0042902E INSTEAD OF 083250N 0042902E.

THIS AIP SUP IS **AVBL** AT WWW.SIA.AVIATION-CIVILE.GOUV.FR
F) FL055 G) FL125
W0904/25
AEROBATICS ACTIVITY AT 'PRE SAINT MARTIN' :
AXIS 170/350
LENGTH 2000M
CENTRED ON PSN 481243N 0012936E (RDL 026/10NM ARP LFOC CHATEAUDUN)
WINTER SKED : 0900-1100 1300-1600 (SUMMER SKED : -1HR)
USERS INFORMATION :
SEINE INFO 127.815MHZ
PARIS INFO 129.625MHZ
F) 1500FT AMSL G) 4500FT AMSL
W0928/25
SR-SS
PARAGLIDER WINCHING ACT AT 'VIENNE EN VAL' :
RDL : 196/05NM LFOZ ARP
PSN : 474858N 0020749E
(FLASHING LIGHTS ON WINCH)
F) SFC G) 2000FT AMSL
R1032/25
TRIGGER NOTAM - AIP SUP 233/24 MODIFIED :
REMOTELY PILOTED AIRCRAFT FLYING OVER FRANCE UPPER AIRSPACE
REQUIRING THE CREATION OF A TEMPORARY DANGEROUS AREA AND TEMPORARY
RESTRICTED AREAS.
THESE AREAS ARE **ACTIVATED** BY NOTAM 48HR BEFORE (ON WORKING DAY).

CORRECT FOR READ :
RELEVANT AUTHORITIES CONTACT DETAILS
'CDC LYON MONT VERDUN' (RAMBERT) : +33 4 87 65 61 99

THIS AIP SUP IS **AVBL** AT WWW.SIA.AVIATION-CIVILE.GOUV.FR
F) FL490 G) FL550
R0685/25
TRIGGER NOTAM - AIP SUP 048/25
CREATION OF 6 TEMPO RESTRICTED AREAS (ZRT) AND 5 TEMPO **DANGER**
AREAS FOR UNMANNED ACFT FLYING OUT OF SIGHT IN THE BAY OF 'SEINE'
AND 'COTENTIN', ACTIVABLE BY NOTAM WITH A 48HR PN.
THIS AIP SUP IS **AVBL** AT WWW.SIA.AVIATION-CIVILE.GOUV.FR
F) SFC G) 2000FT AMSL
W0540/25
SR-SS
MODEL FLYING ACTIVITY NR 8700 'LAMOTTE BEUVRON' MODIFIED :
NEW PSN : 473558N 0020048E (PSN DISPLACED 1000M IN THE
SOUTH-EAST). F) SFC G) 1400FT AMSL
R0609/25
TRIGGER NOTAM - AIP SUP 039/25
CREATION OF 2 TEMPO RESTRICTED AREAS FOR UNMANNED ACFT IN THE
SOUTH OF PARIS, **ACTIVATED** BY NOTAM.
THIS AIP SUP IS **AVBL** AT WWW.SIA.AVIATION-CIVILE.GOUV.FR
F) SFC G) 500FT AGL

R0682/25
TRIGGER NOTAM - AIP SUP 046/25
MIL ACTIVITIES REQUIRING THE CREATION OF 12 TEMPO RESTRICTED AREAS (ZRT) IN THE AREA OF 'CHATEAUDUN' AND 'ORLEANS-BRICY' **AD**, ACTIVABLE BY
NOTAM WITH 48HR PN.
THIS AIP SUP IS **AVBL** AT WWW.SIA.AVIATION-CIVILE.GOUV.FR
F) SFC G) FL065
W0155/25
SR-SS
MODEL FLYING ACTIVITY NR 8274 'SANDILLON' CHANGED :
PSN CHANGED : 474918N 0020323E
(1.2NM TO THE SOUTH-SOUTHWEST)
F) SFC G) 500FT AGL
W2942/24
SR-SS
UNMANNED AIRCRAFT (UA) ACTIVITY ABOVE 'VAUDOY EN BRIE' FOR EXPERIMENTS
PSN : 484024N 0030441E (COLOCATED WITH MODEL FLYING ACTIVITY AEM NR 8604 'VAUDOY EN BRIE')
RDL 031/5.4NM ARP LFAI.
F) SFC G) 1400FT AMSL

++++++++++++++++++++++++++++++ ROUTE ++++++++++++++++++++++++++++++

F0301/26
TRIGGER NOTAM - PERM AIRAC AIP AMDT 03/26 WEF 19 MAR 2026.
MODIFICATION OF AWY N872 : ADDITION OF 'PITHI' POINT
F1752/25
'NORTH EAST' FRA CELL - AIRAC AIP AMDT, CHART ENR 6.2 ED2/2025 :
ADD THE FOLLOWING SEGMENTS :
AWY B3 : RLP-VUCTU / VERMA-CMB
AWY J10 : DIKOL-SUIPE
AWY L613 : VESAN-RATUK / RATUK-SOVAT
AWY L615 : LUREN-DJL
AWY N57 : EGOZE-ABB
AWY N872 : MEDIL-LESDO
AWY N873 : ADUTO-VEKIN
AWY N874 : VENOR-EGOZE / NURMO-VENOR / PERON-NURMO / SULEX-PERON / CMB-SULEX / VEKIN-CMB
AWY Q763 : TALUD-RAPOR
AWY T22 : ABB-RATUK
AWY T37 : TRO-BOLLY / BOLLY-KASON / KASON-DJL
AWY T372 : VERMA-LESDO
AWY Y473 : LUMIL-TULNI
AWY Z110 : AMPUM-VAVOT / VAVOT-MMD
AWY Z173 : VEKIN-ARVOL
AWY Z373 : CMB-ARVOL
FOR MORE DETAILS, REFERENCE AIP FRANCE ENR 3.2.
F1751/25
'CENTER' FRA CELL - AIRAC AIP AMDT 12/25, CHART ENR 6.2 ED2/2025 :
ADD FOLLOWING SEGMENTS :
AWY A3 : MOU - OMANI / OMANI - FEDZI / FEDZI - LESPI.
FOR MORE DETAILS, REFERENCE AIP FRANCE ENR 3.2-2.

F1714/25
ADDITION OF THE SIGNIFICANT POINT 'PITHI' ON AWY N872 :
COORDINATES : 501126.5N 0033422.2E
MEDIL
204DEG 10NM FL500 FL115 PARIS/REIMS
PITHI
204DEG 25NM FL500 FL115 PARIS/REIMS
LESDO
REFERENCE AIP FRANCE ENR 3.2-56 AND ENR 4.4-25.

LECM MADRID FIR/UIR

++++++++++++++++++++++++++++ FIR/UIR ++++++++++++++++++++++++++++++

B0936/26
TRIGGER NOTAM - AIRAC AIP SUP 11/26 WEF 19-MAR-26 TO 19-MAR-27 EST
FIR MADRID.- EL CASTILLAR WIND FARM UNDER CONSTRUCTION
B0939/26
TRIGGER NOTAM - AIRAC AIP SUP 12/26 WEF 19-MAR-26 TO 19-MAR-27 EST
FIR MADRID.-LAS TADEAS WIND FARM UNDER CONSTRUCTION
B0938/26
TRIGGER NOTAM - PERM AIRAC AIP AMDT 02/26 WEF 19-MAR-26 DATA-SET.-
- EN-ROUTE DATASET.
- AIRSPACE DATASET.
- PUBLIC AERODROMES/HELIPORTS DATA SETS:
- ALBACETE (LEAB).
- BILBAO (LEBB).
- JEREZ (LEJR).
- LANZAROTE/CESAR MANRIQUE LANZAROTE
(GCRR).
- REUS (LERS).
B0941/26
TRIGGER NOTAM - AIRAC AIP SUP 13/26 WEF 19-MAR-26 TO 19-MAR-27 EST
FIR MADRID.- INSTALLATION OF A MEASURING TOWER WITHIN LOS CANOS
III WIND FARM.
B0949/26
TRIGGER NOTAM - AIRAC AIP SUP 24/26 WEF 19-MAR-26 TO 19-MAR-27 EST
FIR MADRID.- OLERON WIND FARM UNDER CONSTRUCTION
B1937/26
TRIGGER NOTAM - AIP SUP 09/26 WEF 19-FEB-26 TO 26-DEC-26 EST
FIR MADRID - LA COLINA WIND FARM UNDER CONSTRUCTION
B1941/26
TRIGGER NOTAM - AIP SUP 26/26 WEF 19-MAR-26 TO 19-MAR-27 EST
FIR MADRID.- INSTALLATION OF A MEASURING TOWER 'EL HITO'
B1942/26
TRIGGER NOTAM- AIP SUP 28/26 WEF 19-MAR-26 TO 19-FEB-27 EST
FIR MADRID.- SALGUERO WIND FARM UNDER CONSTRUCTION
B1943/26
TRIGGER NOTAM- AIP SUP 29/26 WEF 19-MAR-26 TO 19-MAR-27 EST
FIR MADRID.- INSTALLATION OF A MEASURING TOWER WITHIN SANTA
PATRICIA WIND FARM
B1946/26
TRIGGER NOTAM- AIP SUP 31/26 WEF 19-MAR-26 A 20-FEB-27 EST
FIR MADRID.- MONTE BECERRIL WIND FARM UNDER CONSTRUCTION
B1950/26
TRIGGER NOTAM- AIP SUP 32/26 WEF 19-MAR-26 TO 19-MAR-27 EST
FIR MADRID.- MIRAVETE WIND FARM UNDER CONSTRUCTION
B1957/26
TRIGGER NOTAM- AIP SUP 35/26 WEF 19-MAR-26 TO 19-MAR-27 EST
FIR MADRID.- LOS BALAZOS WIND FARM UNDER CONSTRUCTION

B1958/26
TRIGGER NOTAM- AIP SUP 37/26 WEF 19-MAR-26 TO 19-MAR-27 EST
FIR MADRID.- ESPILO WIND FARM UNDER CONSTRUCTION
B1962/26
TRIGGER NOTAM- AIP SUP 38/26 WEF 19-MAR-26 A 19-MAR-27 EST
FIR MADRID.- MELGUIZAS WIND FARM UNDER CONSTRUCTION
B1966/26
TRIGGER NOTAM- AIP SUP 41/26 WEF 19-MAR-26 TO 19-MAR-27 EST
FIR MADRID - PARRANCANAS WIND FARM UNDER CONSTRUCTION
B1973/26
TRIGGER NOTAM- NOTAM-AIP SUP 46/26 WEF 19-MAR-26 A 19-MAR-27 EST
FIR MADRID.- BLANCO WIND FARM UNDER CONSTRUCTION
B1978/26
TRIGGER NOTAM- AIP SUP 47/26 WEF 19-MAR-26 TO 19-MAR-27 EST
AIS-ESPANA.- MILITARY INVASION OF UKRAINE BY RUSSIAN
FEDERATION
B1992/26
TRIGGER NOTAM - AIP SUP 48/26 WEF 19-MAR-26 TO 19-MAR-27 EST.
FIR MADRID.- ARCE WIND FARM UNDER CONSTRUCTION.
B1996/26
TRIGGER NOTAM - AIP SUP 50/26 WEF 19-MAR-26 TO 20-FEB-27 EST.
FIR MADRID.- LA MOTA WIND FARM UNDER CONSTRUCTION
B1999/26
TRIGGER NOTAM - AIP SUP 53/26 WEF 19-MAR-26 TO 19-MAR-27 EST.
FIR MADRID.- CARRICONDO WIND FARM UNDER CONSTRUCTION
G0024/26
GNSS/GPS MAY BE UNAVAILABLE OR MISLEADING DUE TO INTERFERENCE FM
SFC
UP TO FL660 IN THE AREA DEFINED BY THE FOLLOWING POINTS: 372110N
0050855W, 372110N 0014400W, 355000N 0020600W, 355000N 0043812W,
361227N 0043812W, 362634N 0050116W, 365100N 0050855W, 372110N
0050855W. THE AREA INCLUDE, AMONG OTHER PLACES, MALAGA, ALMERIA
AND THE ALBORAN SEA. REPORT TO ATC IF ANY INTERFERENCE DETECTED
B1332/26
UNTIL 31 MAR 2026 2359 UTC, SPANISH CIVIL AIR OPERATORS ARE
RECOMMENDED TO EXERCISE **CAUTION** AND IMPLEMENT CONTINGENCY PLANNING
WHEN OPERATING AND ROUTING WITHIN:
A) SAN JUAN FIR (TJZS),
B) CURACAO FIR (TNCF) ,
C) PIARCO FIR (TTZP) WEST OF 0570000W,
DUE TO POTENTIAL SPILLOVER RISKS ASSOCIATED WITH THE DEPLOYMENT
AND POSSIBLE USE OF MILITARY ASSETS IN THE REGION
B1330/26
UNTIL 31 MAR 2026 2359 UTC, SPANISH CIVIL AIR OPERATORS ARE
RECOMMENDED TO EXERCISE **CAUTION** AND IMPLEMENT CONTINGENCY PLANNING
WHEN OPERATING AND ROUTING WITHIN MAIQUETIA FIR (SVZM) DUE TO
POTENTIAL RISKS ASSOCIATED WITH THE DEPLOYMENT AND POSSIBLE USE OF
MILITARY ASSETS IN THE REGION
B1231/26
MILITARY INVASION OF UKRAINE BY RUSSIAN FEDERATION:
ALL AIRCRAFT OWNED, CHARTERED OR OPERATED OR OTHERWISE CONTROLLED
BY CITIZENS OF THE RUSSIAN FEDERATION AND ALL OPERATORS HOLDING
AIR OPERATOR CERTIFICATE (AOC) ISSUED BY THE RUSSIAN FEDERATION
AUTHORITIES ARE PROHIBITED TO ENTER, EXIT OR OVERFLY SPANISH
AIRSPACE EXCEPT HUMANITARIAN, SAR AND LEASED AIRCRAFT ONE-WAY
RETURN FLIGHTS WITH THE PERMISSION OF THE APPROPRIATE SPANISH
AUTHORITIES AND IN CASE OF EMERGENCY LANDING OR EMERGENCY
OVERFLIGHT. REQUESTS FOR HUMANITARIAN FLIGHTS SHALL BE SENT TO THE
CONCERNED SPANISH AIRPORT OPERATOR.

B1229/26
IN ACCORDANCE WITH COUNCIL DECISION (CFSP) 2021/908 , PERMISSION
TO LAND IN, TAKE-OFF FROM OR OVERFLY THE TERRITORY OF SPAIN SHALL
BE DENIED TO ANY AIRCRAFT OPERATED BY BELARUSIAN AIR CARRIERS,
INCLUDING AS A MARKETING CARRIER IN CODE-SHARING OR BLOCKED-SPACE
ARRANGEMENTS.
PREVIOUS PARAGRAPH SHALL NOT APPLY IN THE CASE OF AN EMERGENCY
LANDING OR AN EMERGENCY OVERFLIGHT. SPANISH AUTHORITIES MAY
DETERMINE NOT APPLICABILITY OF THE PARAGRAPH ABOVE WHEN A LANDING,
TAKE-OFF OR OVERFLIGHT IS REQUIRED FOR HUMANITARIAN PURPOSES OR
ANY OTHER PURPOSES.

++++++++++++++++++++++ RESTRICTED AIRSPACE ++++++++++++++++++++++++

D1320/26
SR-SS
TEMPO SEGREGATED AREA **ACTIVATED** FOR UNMANNED ACFT
FLYING WI COORD: 400446N 0025607W - 395945N 0024437W -
395734N 0024537W - 400240N 0025732W - 400446N 0025607W
TARANCON, CUENCA
RMK:
COORDINATION PHONE NUMBER: +34 948 572 230
+34 669 408 833 / +34 680 836 208 / +34 636 440 147
COORDINATION MAIL: COORDINACIONES(AT)FUVEX.COM
F) SFC G) 00100M AGL
D1294/26 VALID: 19-MAR-26 0900 - 20-MAR-26 1200
0900-1200
TEMPORARY RESTRICTED AREA FOR PJE **ACTIVATED**
WI 03NM RADIUS OF 424914N 0003728W ONLY IN LECM FIR
HUESCA/AGUAS TUERTAS
RMK: THE ACTIVATION/DEACTIVATION OF THIS AREA WILL BE CARRIED OUT
IN REAL TIME BY TACTICAL COORDINATION WITH ECAO (OPERATIVE
AIR TRAFFIC SQUADRON) MADRID.
F) SFC G) 07000FT AMSL
D0950/26 VALID: 18-MAR-26 0630 - 20-MAR-26 1400
18 20 0630-1400
TEMPORARY RESTRICTED AREA FOR PJE **ACTIVATED** WI
383218N 0013803W, 380935N 0011325W, 380548N 0011815W,
380128N 0012214W, 375650N 0012437W, 380647N 0020020W,
382032N 0015124W, 383218N 0013803W
MURCIA/PAPA
RMK: THE ACTIVATION/DEACTIVATION OF THIS AREA WILL BE CARRIED OUT
IN REAL TIME BY TACTICAL COORDINATION WITH ECAO (OPERATIVE
AIR TRAFFIC SQUADRON) SEVILLA AND ECAO (OPERATIVE AIR TRAFFIC
SQUADRON) BARCELONA.
F) SFC G) 10000FT AMSL
D1239/26
17-20 1200-1330 1500-1900, 25-26 0800-1330 1500-1900, 24 ,
0800-1000 1030-1330 1500-1900
TEMPORARY SEGREGATED AREA FOR UNMANNED ACFT VEHICLE FLYING
ACTIVATED WI 405146N 0032719W, 405146N 0032239W,
404942N 0032239W, 404942N 0032719W, 405146N 0032719W
GUADALAJARA/CASAS DE UCEDA
RMK: THE ACTIVATION/DEACTIVATION OF THIS AREA WILL BE CARRIED OUT
IN REAL TIME BY TACTICAL COORDINATION WITH ECAO (OPERATIVE
AIR TRAFFIC SQUADRON) MADRID, MADRID ACC AND LECV TWR
F) SFC G) 04500FT AMSL

D0756/26
24-26 1000-1500 1700-2100, 17-19 1000-1300
TEMPORARY SEGREGATED AREA FOR UNMANNED AIRCRAFT VEHICLE
FLYING **ACTIVATED** WI 370116N 0022229W, 365812N 0021955W,
365305N 0022149W, 365235N 0022316W, 365350N 0022547W,
370116N 0022229W (LATERAL LIMITS COINCIDENTAL WITH LED36)
ALMERIA/ALVAREZ DE SOTOMAYOR
RMK: THE ACTIVATION/DEACTIVATION OF THIS AREA WILL BE CARRIED OUT
IN REAL TIME BY TACTICAL COORDINATION WITH ECAO (OPERATIVE
AIR TRAFFIC SQUADRON) SEVILLA AND LEAM TWR.
F) SFC G) 04000FT AMSL

D1262/26
SR-SS
TEMPO SEGREGATED AREA **ACTIVATED** FOR UNMANNED ACFT
WI COORD:
405414N 0020451W - 410056N 0021232W - 410445N 0021049W -
410923N 0015859W - 410646N 0014843W - 405803N 0014524W -
405457N 0014551W - 405124N 0014924W - 405605N 0015937W -
405414N 0020451W
TARTANEDO, GUADALAJARA
RMK:
COORDINATION PHONE NUMBER: +34 948 572 230 / +34 680 836 208
COORDINATION MAIL: COORDINACIONES(AT)FUVEX.COM
F) SFC G) 00100M AGL

D1248/26
SR-SS
TSA **ACTIVATED** FOR UNMANNED ACFT WI COORD:
411116N 0023247W
411900N 0022953W
411914N 0022727W
411332N 0022643W
411417N 0021306W
411036N 0021050W
410441N 0021507W
410516N 0022241W
410710N 0023022W
411116N 0023247W.
MEDINACELI, SORIA.
RMK:
COORDINATION PHONE NUMBER: +34 948 572 230 /+34 680 836 208.
CORDINATION MAIL: COORDINACIONES(AT)FUVEX.COM
F) SFC G) 00100M AGL

D0854/26 VALID: 16-MAR-26 1900 - 20-MAR-26 1400
16 1900-2359, 17-19 0000-2359, 20 0000-1400
TEMPORARY SEGREGATED AREA FOR UNMANNED AIRCRAFT VEHICLE
FLYING **ACTIVATED** WI 415343N 0005724W, 414450N 0005216W,
414243N 0005430W, 414903N 0010425W, 415343N 0005724W
(LATERAL LIMITS COINCIDENTAL WITH LED70C)
ZARAGOZA/SAN GREGORIO
F) SFC G) 03000FT AMSL

D0553/26 VALID: 16-MAR-26 0900 - 20-MAR-26 1200
TEMPORARY SEGREGATED AREA FOR UNMANNED AIRCRAFT VEHICLE
FLYING **ACTIVATED** WI 423904N 0054455W, 423959N 0054134W,
423655N 0054137W, 423624N 0054133W, 423626N 0054247W,
423659N 0054403W, 423747N 0054433W, 423841N 0054442W
423904N 0054455W
LEON/EL FERRAL-ZONA 1
RMK: THE ACTIVATION/DEACTIVATION OF THIS AREA WILL BE CARRIED OUT
IN REAL TIME BY TACTICAL COORDINATION WITH ECAO (OPERATIVE
AIR TRAFFIC SQUADRON) MADRID.
F) SFC G) FL100

D0554/26 VALID: 16-MAR-26 0900 - 20-MAR-26 1200
TEMPORARY SEGREGATED AREA FOR UNMANNED AIRCRAFT VEHICLE
FLYING **ACTIVATED** WI 423904N 0054455W, 424256N 0054452W,
424247N 0054127W, 423959N 0054134W, 423904N 0054455W
LEON/EL FERRAL-ZONA 2
RMK: THE ACTIVATION/DEACTIVATION OF THIS AREA WILL BE CARRIED OUT
IN REAL TIME BY TACTICAL COORDINATION WITH ECAO (OPERATIVE
AIR TRAFFIC SQUADRON) MADRID.
F) SFC G) FL100

D1266/26
16-20 23 0800-1400
LED119 **ACTIVATED** FOR AIR OPS
RMK: THE ACTIVATION/DEACTIVATION OF THIS AREA WILL BE CARRIED OUT
IN REAL TIME BY TACTICAL COORDINATION WITH ECAO (OPERATIVE
AIR TRAFFIC SQUADRON) SEVILLA
F) FL245 G) FL600

D1267/26
16 0800-1900, 17-20 23-27 0800-1400
LED120 **ACTIVATED** FOR AIR OPS
RMK: THE ACTIVATION/DEACTIVATION OF THIS AREA WILL BE CARRIED OUT
IN REAL TIME BY TACTICAL COORDINATION WITH ECAO (OPERATIVE
AIR TRAFFIC SQUADRON) SEVILLA
F) SFC G) FL245

D1268/26
16-20 23 0800-1400
AIR EXERCISES WI 365531N 0072129W, 370430N 0070731W,
370537N 0070137W, 365033N 0064303W, 362000N 0072130W,
365531N 0072129W
HUELVA/D-121R ARENOSILLO NORTE INFERIOR OESTE
RMK: THE ACTIVATION/DEACTIVATION OF THIS AREA WILL BE CARRIED OUT
IN REAL TIME BY TACTICAL COORDINATION WITH ECAO (OPERATIVE
AIR TRAFFIC SQUADRON) SEVILLA
F) SFC G) FL245

D0753/26
0600-2359
LETS34 ACT FOR UAS FLT, ACFT FLT AND REAL GUN FIRING.
UPPER VERTICAL LIMIT MODIFIED
RMK: THE ACTIVATION/DEACTIVATION OF THIS AREA WILL BE CARRIED OUT
IN REAL TIME BY TACTICAL COORDINATION WITH ECAO (OPERATIVE
AIR TRAFFIC SQUADRON) SEVILLA.
F) SFC G) 08000FT AMSL

D1034/26
TEMPO RESTRICTED AREA **ACTIVATED** FOR UNMANNED ACFT
FLYING WI COORD: 385235N 0025341W - 385233N 0024905W -
384859N 0024841W - 384522N 0024847W - 384459N 0024817W -
384447N 0024817W - 384425N 0025210W - 384305N 0025206W -
384431N 0025355W - 385235N 0025341W
VILLAHERMOSA, CIUDAD REAL
RMK:
COORDINATION PHONE NUMBER: +34 680 836 208/ +34 669 408 833
COORDINATION MAIL: COORDINACIONES(AT)FUVEX.COM
F) SFC G) 00100M AGL

D1158/26
SR-SS
TEMPO SEGREGATED AREA **ACTIVATED** WI COORD:
384553N 0031543W - 384451N 0031535W - 384339N 0032341W -
384130N 0032442W - 383822N 0032648W - 383037N 0032905W -
383046N 0033006W - 383426N 0032931W - 383916N 0032811W -
384439N 0032512W - 384553N 0031543W
LOCALIZACION: VALDEPENAS, CIUDAD REAL.
RMK:
COORDINATION PHONE NUMBER: +34 948 572 230/ +34 680 836 208
F) SFC G) 00100M AGL

D1168/26
SR-SS
TEMPO SEGREGATED AREA **ACTIVATED** FOR UNMANNED ACFT WI COORD:
384944N 0032431W - 384945N 0032341W - 384729N 0032328W -
384431N 0032336W - 384433N 0032427W - 384709N 0032459W -
384944N 0032431W
VALDEPENAS, CIUDAD REAL.
RMK:
COORDINATION PHONE NUMBER: +34 948 572 230 / +34 669 408 833
COORDINATION MAIL: COORDINACIONES(AT)FUVEX.COM
F) SFC G) 00100M AGL

D1202/26
SR-SS
TEMPO SEGREGATED AREA **ACTIVATED** WI COORD:
392552N 0041414W
392432N 0041034W
390057N 0040940W
390113N 0041419W
391607N 0042013W
391959N 0041548W
392133N 0041345W
392238N 0041530W
392552N 0041414W
PORZUNA, CIUDAD REAL.
RMK:
COORDINATION PHONE NUMBER: +34 948 572 230 / +34 669 408 833
COORDINATION MAIL: COORDINACIONES(AT)FUVEX.COM
F) SFC G) 00100M AGL

D1118/26
SR-SS
TEMPO SEGREGATED AREA **ACTIVATED** FOR UNMANNED ACFT WI COORD:
390747N 0030202W
391059N 0030604W
391335N 0030805W
391558N 0030830W
391612N 0030718W
391419N 0030208W
390905N 0025939W
390739N 0025925W
390747N 0030202W
TOMELLOSO, CIUDAD REAL
RMK:
CORDINATION PHONE NUMBER: +34 948 572 230 / +34 669 408 833
CORDINATION MAIL: COORDINACIONES(AT)FUVEX.COM
F) SFC G) 00100M AGL

D1138/26
MAR 12 24 28 0000-0600, MAR 23 2000-2359, APR 01-02 0600-1600
TEMPO **DANGER** AREA FOR UNMANNED ACFT **ACTIVATED** FLYING
WI COORD:
363512N 0064303W
363512N 0063942W
363214N 0063848W
362751N 0063443W
361330N 0063800W
361418N 0064302W
363512N 0064303W
AREA 4 GULF OF CADIZ
RMK:
COORDINATION PHONE NUMBER: +33 749960453
OVERFLIGHT CLEARED ONLY ACFT PROPERLY AUTHORIZED, STATE ACFT, ACFT OF THE FORCES AND CORPS OF STATE SECURITY AND ACFT OF THE EMERGENCY SERVICES.
THE ACTIVATION/DEACTIVATION OF THIS AREA WILL BE CARRIED OUT IN REAL TIME BY TACTICAL COORDINATION WITH SEVILLA ACC AND ECAO SEVILLA.
HE ACTIVATION OF THE AREA WILL BE CONDITIONED TO THE ABSENCE OF OTHER COINCIDING **ACTIVE** AREAS NEEDING COORDINATION FOR ITS USE
F) SFC G) 08500FT AMSL

D1139/26
MAR 12 24 28 0000-0600, MAR 23 2000-2359, APR 01-02 0600-1600
TEMPO **DANGER** AREA FOR UNMANNED ACFT **ACTIVATED** FLYING
WI COORD:
365033N 0064303W
364923N 0064303W
364255N 0064559W
363754N 0064305W
361418N 0064302W
362000N 0072130W
365033N 0064303W
AREA 5 GULF OF CADIZ
RMK:
COORDINATION PHONE NUMBER: +33 749960453
OVERFLIGHT CLEARED ONLY ACFT PROPERLY AUTHORIZED, STATE ACFT, ACFT OF THE FORCES AND CORPS OF STATE SECURITY AND ACFT OF THE EMERGENCY SERVICES.
THE ACTIVATION/DEACTIVATION OF THIS AREA WILL BE CARRIED OUT IN REAL TIME BY TACTICAL COORDINATION WITH SEVILLA ACC AND ECAO SEVILLA.
HE ACTIVATION OF THE AREA WILL BE CONDITIONED TO THE ABSENCE OF OTHER COINCIDING **ACTIVE** AREAS NEEDING COORDINATION FOR ITS USE
F) SFC G) 08500FT AMSL

D1141/26
MAR 12 24 28 0000-0600, MAR 23 2000-2359, APR 01-02 0600-1600
TEMPO **DANGER** AREA FOR UNMANNED ACFT **ACTIVATED** FLYING
WI COORD:
362751N 0063442W
362556N 0063205W
360412N 0061551W
360000N 0060738W
360000N 0062132W
355846N 0062149W
355849N 0064103W
361330N 0063800W
362751N 0063442W
AREA 7 GULF OF CADIZ
RMK:
COORDINATION PHONE NUMBER: +33 749960453
OVERFLIGHT CLEARED ONLY ACFT PROPERLY AUTHORIZED, STATE ACFT, ACFT OF THE FORCES AND CORPS OF STATE SECURITY AND ACFT OF THE EMERGENCY SERVICES.
THE ACTIVATION/DEACTIVATION OF THIS AREA WILL BE CARRIED OUT IN REAL TIME BY TACTICAL COORDINATION WITH SEVILLA ACC AND ECAO SEVILLA.
HE ACTIVATION OF THE AREA WILL BE CONDITIONED TO THE ABSENCE OF OTHER COINCIDING **ACTIVE** AREAS NEEDING COORDINATION FOR ITS USE
F) SFC G) 05500FT AMSL

D1037/26
11-12 18-19 25-26 1400-2000
TEMPORARY SEGREGATED AREA FOR UNMANNED AIRCRAFT
VEHICLE FLYING **ACTIVATED** WI 362723N 0061740W, 362826N 0061512W, 362818N 0061358W, 362712N 0061322W, 362639N 0061335W, 362624N 0061334W, 362547N 0061412W, 362441N 0061603W, 362723N 0061740W EXC LED90B/C WHEN ACT
CADIZ/POLIGONO L/R
RMK: THE ACTIVATION/DEACTIVATION OF THIS AREA WILL BE CARRIED OUT IN REAL TIME BY TACTICAL COORDINATION WITH ECAO (OPERATIVE AIR TRAFFIC SQUADRON) SEVILLA.
F) SFC G) 05000FT AMSL

D1039/26
11-12 18-19 25-26 1400-2000
TEMPORARY SEGREGATED AREA FOR UNMANNED AIRCRAFT
VEHICLE FLYING **ACTIVATED** WI 360224N 0062329W, 362855N 0061710W, 362821N 0061328W, 362621N 0061345W, 362314N 0061232W, 361814N 0060854W, 361055N 0060149W, 360837N 0055733W, 360421N 0055218W, 360220N 0055231W, 360224N 0062329W
EXC LED90B/C, LETR2 AND LETS34 WHEN ACT
CADIZ/POLIGONO CHARLIE
RMK: THE ACTIVATION/DEACTIVATION OF THIS AREA WILL BE CARRIED OUT IN REAL TIME BY TACTICAL COORDINATION WITH ECAO (OPERATIVE AIR TRAFFIC SQUADRON) SEVILLA.
F) SFC G) 05000FT AMSL

D1043/26
11-12 18-19 25-26 1400-2000
TEMPORARY SEGREGATED AREA FOR UNMANNED AIRCRAFT
VEHICLE FLYING **ACTIVATED** WI 361152N 0062130W, 361152N 0060315W,
360227N 0053943W, 355626N 0053943W, 355622N 0055917W,
355000N 0060533W, 355000N 0070707W, 355945N 0070707W,
360020N 0064156W, 360433N 0064055W, 360439N 0062300W,
361152N 0062130W EXC LETR2, LETS34, LED90A/B AND LED122 WHEN ACT
CADIZ/POLIGONO DELTA
RMK: THE ACTIVATION/DEACTIVATION OF THIS AREA WILL BE CARRIED OUT
IN REAL TIME BY TACTICAL COORDINATION WITH ECAO (OPERATIVE
AIR TRAFFIC SQUADRON) SEVILLA.
F) SFC G) 05000FT AMSL

D1047/26
11-12 18-19 25-26 1400-2000
TEMPORARY SEGREGATED AREA FOR UNMANNED AIRCRAFT
VEHICLE FLYING **ACTIVATED** WI 361643N 0055250W,
361720N 0055157W, 361252N 0054317W, 361148N 0054227W,
360912N 0054822W, 360730N 0055008W, 360304N 0055252W,
360201N 0055403W, 360759N 0060043W, 360905N 0055937W,
360918N 0055855W, 361132N 0055521W, 361341N 0055520W,
361643N 0055250W
CADIZ/POLIGONO RETIN
RMK: THE ACTIVATION/DEACTIVATION OF THIS AREA WILL BE CARRIED OUT
IN REAL TIME BY TACTICAL COORDINATION WITH ECAO (OPERATIVE
AIR TRAFFIC SQUADRON) SEVILLA.
F) SFC G) 05000FT AMSL

D0709/26
11 0900-1600, 25 1000-1900
LED7 ACT FOR REAL FRNG EXER.
UPPER VERTICAL LIMIT MODIFIED
RMK: THE AREA WILL BE TREATED AS TSA
RMK: THE ACTIVATION/DEACTIVATION OF THIS AREA WILL BE CARRIED OUT
IN REAL TIME BY TACTICAL COORDINATION WITH ECAO (OPERATIVE
AIR TRAFFIC SQUADRON) MADRID
F) SFC G) 10000FT AMSL

D0881/26 VALID: 11-MAR-26 0700 - 20-MAR-26 1200
11-13 16-20 0700-1200
TEMPORARY SEGREGATED AREA FOR UNMANNED AIRCRAFT VEHICLE FLYING
ACTIVATED WI 405147N 0032719W, 405147N 0032239W,
404942N 0032239W, 404942N 0032719W, 405147N 0032719W
GUADALAJARA/CASAS DE UCEDA
RMK: THE ACTIVATION/DEACTIVATION OF THIS AREA WILL BE CARRIED OUT
IN REAL TIME BY TACTICAL COORDINATION WITH ECAO (OPERATIVE
AIR TRAFFIC SQUADRON) MADRID AND LECV TWR.
F) SFC G) 04500FT AMSL

D0939/26
10-12 2140-2359, 17-19 24-26 2000-2359, 31 1100-2359
LED129 **ACTIVATED** FOR AIR OPS
UPPER VERTICAL LIMIT MODIFIED
RMK: THE ACTIVATION/DEACTIVATION OF THIS AREA WILL BE CARRIED OUT
IN REAL TIME BY TACTICAL COORDINATION WITH ECAO (OPERATIVE
AIR TRAFFIC SQUADRON) SEVILLA
F) SFC G) 03000FT AMSL

D0938/26
10-12 2100-2359, 17-19 24-26 2000-2359, 31 1100-2359
AIR EXERCISES WI 363555N 0064302W, 363451N 0063304W,
361318N 0063800W, 361418N 0064302W, 363555N 0064302W
HUELVA/D-128 REDUCIDA
RMK: THE ACTIVATION/DEACTIVATION OF THIS AREA WILL BE CARRIED OUT
IN REAL TIME BY TACTICAL COORDINATION WITH ECAO (OPERATIVE
AIR TRAFFIC SQUADRON) SEVILLA
F) SFC G) 03000FT AMSL

D0925/26
10-12 24-26 31 2000-2359
LED90A **ACTIVATED** FOR AIR OPS
UPPER VERTICAL LIMIT MODIFIED
RMK: THE ACTIVATION/DEACTIVATION OF THIS AREA WILL BE CARRIED OUT
IN REAL TIME BY TACTICAL COORDINATION WITH ECAO (OPERATIVE
AIR TRAFFIC SQUADRON) SEVILLA
F) SFC G) 03000FT AMSL

D1093/26
MAR 10 2000-2359, MAR 11 0000-0600 2030-2359, MAR 12 0000-0600,
MAR 16 0700-1700, MAR 24 0000-0600, MAR 26 2000-2359, MAR 27 ,
0000-0600 2000-2359, MAR 28 0000-0600, APR 01 0600-1600, APR 02 ,
0600-1600
TEMPO SEGREGATED AREA **ACTIVATED** FOR UNMANNED ACFT FLYING
WI COORD: 370901N 0064500W - 365650N 0063410W -
365033N 0064303W - 370536N 0070137W - 370719N 0065337W -
370901N 0064500W
AREA 1 GULF OF CADIZ
RMK:
COORDINATION PHONE NUMBER: +33 749960453
OVERFLIGHT CLEARED ONLY ACFT PROPERLY AUTHORIZED, STATE ACFT, ACFT
OF THE FORCES AND CORPS OF STATE SECURITY AND ACFT OF THE
EMERGENCY SERVICES.
THE ACTIVATION/DEACTIVATION OF THIS AREA WILL BE CARRIED OUT
IN REAL TIME BY TACTICAL COORDINATION WITH SEVILLA ACC AND ECAO
SEVILLA.
THE ACTIVATION OF THE AREA WILL BE CONDITIONED TO THE ABSENCE OF
OTHER COINCIDING **ACTIVE** AREAS NEEDING COORDINATION FOR ITS USE
F) SFC G) 08500FT AMSL

D1103/26
MAR 10 2000-2359, MAR 11 0000-0600 2000-2359, MAR 12 24 28 ,
0000-0600, MAR 16-17 20 0700-1700, MAR 23 26 2000-2359, MAR 27 ,
0000-0600 2000-2359, APR 01-02 0600-1600
TEMPO SEGREGATED AREA **ACTIVATED** FOR UNMANNED ACFT FLYING
WI COORD: WI COORD: 370044N 0063520W - 365745N 0063027W -
365542N 0062832W - 365338N 0062637W - 365209N 0062551W -
365040N 0062505W - 364811N 0062352W - 364651N 0062344W -
364619N 0062337W - 364606N 0062451W - 364549N 0062621W -
365158N 0062938W - 365400N 0063132W - 365601N 0063327W -
370008N 0063706W - 370044N 0063520W
AREA 1A GOLFO DE CADIZ
RMK:
COORDINATION PHONE NUMBER: +33 749960453
OVERFLIGHT CLEARED ONLY ACFT PROPERLY AUTHORIZED, STATE ACFT, ACFT
OF THE FORCES AND CORPS OF STATE SECURITY AND ACFT OF THE
EMERGENCY SERVICES.
THE ACTIVATION/DEACTIVATION OF THIS AREA WILL BE CARRIED OUT
IN REAL TIME BY TACTICAL COORDINATION WITH SEVILLA ACC AND ECAO
SEVILLA.
THE ACTIVATION OF THE AREA WILL BE CONDITIONED TO THE ABSENCE OF
OTHER COINCIDING **ACTIVE** AREAS NEEDING COORDINATION FOR ITS USE
F) SFC G) 01500FT AMSL

D1104/26
MAR 10 2000-2359, MAR 11 0000-0600 2000-2359, MAR 12 24 28 ,
0000-0600, MAR 16-17 20 0700-1700, MAR 23 26 2000-2359, MAR 27 ,
0000-0600 2000-2359, APR 01-02 0600-1600
TEMPO SEGREGATED AREA **ACTIVATED** FOR UNMANNED ACFT FLYING
WI COORD: 370913N 0065724W - 370719N 0065337W -
370536N 0070137W - 370229N 0072130W - 365808N 0072129W -
365758N 0072258W - 370652N 0072259W - 370913N 0065724W
AREA 2 GULF OF CADIZ
RMK:
COORDINATION PHONE NUMBER: +33 749960453
OVERFLIGHT CLEARED ONLY ACFT PROPERLY AUTHORIZED, STATE ACFT, ACFT
OF THE FORCES AND CORPS OF STATE SECURITY AND ACFT OF THE
EMERGENCY SERVICES.
THE ACTIVATION/DEACTIVATION OF THIS AREA WILL BE CARRIED OUT
IN REAL TIME BY TACTICAL COORDINATION WITH SEVILLA ACC AND ECAO
SEVILLA.
THE ACTIVATION OF THE AREA WILL BE CONDITIONED TO THE ABSENCE OF
OTHER COINCIDING **ACTIVE** AREAS NEEDING COORDINATION FOR ITS USE
F) SFC G) 08500FT AMSL

D1108/26
MAR 10 2000-2359, MAR 11 0000-0600 2000-2359, MAR 12 24 28 ,
0000-0600, MAR 23 26 2000-2359, APR 01-02 0600-1600
TEMPO SEGREGATED AREA **ACTIVATED** FOR UNMANNED ACFT
FLYING WI COORD: 362326N 0062706W - 362234N 0062038W -
362413N 0061359W - 361051N 0060453W - 360000N 0060000W -
360000N 0060738W - 360412N 0061551W - 362556N 0063205W -
362326N 0062706W
AREA 9 GULF OF CADIZ
RMK:
COORDINATION PHONE NUMBER: +33 749960453
OVERFLIGHT CLEARED ONLY ACFT PROPERLY AUTHORIZED, STATE ACFT, ACFT
OF THE FORCES AND CORPS OF STATE SECURITY AND ACFT OF THE
EMERGENCY SERVICES.
THE ACTIVATION/DEACTIVATION OF THIS AREA WILL BE CARRIED OUT
IN REAL TIME BY TACTICAL COORDINATION WITH SEVILLA ACC AND ECAO
SEVILLA.
THE ACTIVATION OF THE AREA WILL BE CONDITIONED TO THE ABSENCE OF
OTHER COINCIDING **ACTIVE** AREAS NEEDING COORDINATION FOR ITS USE
F) SFC G) 05500FT AMSL

D1109/26
MAR 10 2000-2359, MAR 11 0000-0600 2000-2359, MAR 12 24 28 ,
0000-0600, MAR 23 26 2000-2359, MAR 27 0000-0600 2000-2359, MAR ,
16-17 20 0700-1700, APR 01-02 0600-1600
TEMPO SEGREGATED AREA **ACTIVATED** FOR UNMANNED ACFT
FLYING WI COOOD
360000N 0060738W
360000N 0060000W
360000N 0053941W
355400N 0053748W
355401N 0060854W
355809N 0060402W
360000N 0060738W
AREA 9 GULF OF CADIZ
RMK:
COORDINATION PHONE NUMBER: +33 749960453
OVERFLIGHT CLEARED ONLY ACFT PROPERLY AUTHORIZED, STATE ACFT, ACFT
OF THE FORCES AND CORPS OF STATE SECURITY AND ACFT OF THE
EMERGENCY SERVICES.
THE ACTIVATION/DEACTIVATION OF THIS AREA WILL BE CARRIED OUT
IN REAL TIME BY TACTICAL COORDINATION WITH SEVILLA ACC AND ECAO
SEVILLA.
THE ACTIVATION OF THE AREA WILL BE CONDITIONED TO THE ABSENCE OF
OTHER COINCIDING **ACTIVE** AREAS NEEDING COORDINATION FOR ITS USE
F) SFC G) 04500FT AMSL

D1114/26
MAR 10 2000-2359, MAR 11 0000-0600 2000-2359, MAR 12 24 28 ,
0000-0600, MAR 23 26 2000-2359, MAR 27 0000-0600 2000-2359, MAR ,
16-17 20 0700-1700, APR 01-02 0600-1600
TEMPO SEGREGATED AREA **ACTIVATED** FOR UNMANNED ACFT
FLYING WI COOOD
371152N 0070615W
371143N 0070147W
370913N 0065724W
370652N 0072259W
370849N 0072259W
371001N 0072044W
371131N 0071634W
371142N 0071237W
371152N 0070615W
AREA 11 GULF OF CADIZ
RMK:
COORDINATION PHONE NUMBER: +33 749960453
OVERFLIGHT CLEARED ONLY ACFT PROPERLY AUTHORIZED, STATE ACFT, ACFT
OF THE FORCES AND CORPS OF STATE SECURITY AND ACFT OF THE
EMERGENCY SERVICES.
THE ACTIVATION/DEACTIVATION OF THIS AREA WILL BE CARRIED OUT
IN REAL TIME BY TACTICAL COORDINATION WITH SEVILLA ACC AND ECAO
SEVILLA.
THE ACTIVATION OF THE AREA WILL BE CONDITIONED TO THE ABSENCE OF
OTHER COINCIDING **ACTIVE** AREAS NEEDING COORDINATION FOR ITS USE
F) SFC G) 02000FT AMSL

D1116/26
MAR 10 2000-2359, MAR 11 0000-0600 2000-2359, MAR 12 24 28 ,
0000-0600, MAR 23 26 2000-2359, MAR 27 0000-0600 2000-2359, MAR ,
16-17 20 0700-1700, APR 01-02 0600-1600
TEMPO SEGREGATED AREA **ACTIVATED** FOR UNMANNED ACFT
FLYING WI COOOD
365650N 0063410W
365601N 0063327W
364923N 0064303W
365033N 0064303W
365650N 0063410W
CORRIDOR C GULF OF CADIZ
RMK:
COORDINATION PHONE NUMBER: +33 749960453
OVERFLIGHT CLEARED ONLY ACFT PROPERLY AUTHORIZED, STATE ACFT, ACFT
OF THE FORCES AND CORPS OF STATE SECURITY AND ACFT OF THE
EMERGENCY SERVICES.
THE ACTIVATION/DEACTIVATION OF THIS AREA WILL BE CARRIED OUT
IN REAL TIME BY TACTICAL COORDINATION WITH SEVILLA ACC AND ECAO
SEVILLA.
THE ACTIVATION OF THE AREA WILL BE CONDITIONED TO THE ABSENCE OF
OTHER COINCIDING **ACTIVE** AREAS NEEDING COORDINATION FOR ITS USE
F) SFC G) 02000FT AMSL

D1120/26
MAR 10 2000-2359, MAR 11 0000-0600 2000-2359, MAR 12 24 28 ,
0000-0600, MAR 23 26 2000-2359, MAR 27 0000-0600 2000-2359, MAR ,
16-17 20 0700-1700, APR 01-02 0600-1600
TEMPO SEGREGATED AREA **ACTIVATED** FOR UNMANNED ACFT
FLYING WI COOOD
371546N 0060100W
370304N 0060100W
365413N 0060626W
364725N 0062347W
364726N 0062348W
364811N 0062352W
365040N 0062505W
365209N 0062551W
365338N 0062637W
365542N 0062832W
365543N 0062833W
365805N 0061705W
370625N 0061059W
371428N 0061102W
371546N 0060100W
AREA 12 GUADALQUIVIR GOLFO DE CADIZ
RMK:
COORDINATION PHONE NUMBER: +33 749960453
OVERFLIGHT CLEARED ONLY ACFT PROPERLY AUTHORIZED, STATE ACFT, ACFT
OF THE FORCES AND CORPS OF STATE SECURITY AND ACFT OF THE
EMERGENCY SERVICES.
THE ACTIVATION/DEACTIVATION OF THIS AREA WILL BE CARRIED OUT
IN REAL TIME BY TACTICAL COORDINATION WITH SEVILLA ACC AND ECAO
SEVILLA.
THE ACTIVATION OF THE AREA WILL BE CONDITIONED TO THE ABSENCE OF
OTHER COINCIDING **ACTIVE** AREAS NEEDING COORDINATION FOR ITS USE
F) SFC G) 01000FT AMSL

D1123/26
MAR 10 2000-2359, MAR 11 0000-0600 2000-2359, MAR 12 24 28 ,
0000-0600, MAR 23 26 2000-2359, MAR 27 0000-0600 2000-2359
TEMPO SEGREGATED AREA **ACTIVATED** FOR UNMANNED ACFT FLYING
WI COORD WI COORD:
360000N 0052813W
355959N 0050417W
355001N 0050103W
355001N 0051513W
355532N 0051531W
355654N 0052854W
355401N 0053755W
355713N 0053850W
360000N 0052813W
AREA R-12 MAR DE ALBORAN
RMK:
COORDINATION PHONE NUMBER: +33 749960453
OVERFLIGHT CLEARED ONLY ACFT PROPERLY AUTHORIZED, STATE ACFT, ACFT
OF THE FORCES AND CORPS OF STATE SECURITY AND ACFT OF THE
EMERGENCY SERVICES.
THE ACTIVATION/DEACTIVATION OF THIS AREA WILL BE CARRIED OUT
IN REAL TIME BY TACTICAL COORDINATION WITH SEVILLA ACC AND ECAO
SEVILLA.
THE ACTIVATION OF THE AREA WILL BE CONDITIONED TO THE ABSENCE OF
OTHER COINCIDING **ACTIVE** AREAS NEEDING COORDINATION FOR ITS USE
F) SFC G) 04500FT AMSL

D1127/26
MAR 10 2000-2359, MAR 11 0000-0600 2000-2359, MAR 12 24 28 ,
0000-0600, MAR 23 26 2000-2359, MAR 27 0000-0600 2000-2359, APR ,
01-02 0600-1600
TEMPO **DANGER** AREA FOR UNMANNED ACFT **ACTIVATED** FLYING
WI COORD:
365942N 0070628W
365033N 0064303W
362000N 0072130W
365808N 0072129W
365942N 0070628W
AREA 3B GULF OF CADIZ
RMK:
COORDINATION PHONE NUMBER: +33 749960453
OVERFLIGHT CLEARED ONLY ACFT PROPERLY AUTHORIZED, STATE ACFT, ACFT
OF THE FORCES AND CORPS OF STATE SECURITY AND ACFT OF THE
EMERGENCY SERVICES.
THE ACTIVATION/DEACTIVATION OF THIS AREA WILL BE CARRIED OUT
IN REAL TIME BY TACTICAL COORDINATION WITH SEVILLA ACC AND ECAO
SEVILLA.
HE ACTIVATION OF THE AREA WILL BE CONDITIONED TO THE ABSENCE OF
OTHER COINCIDING **ACTIVE** AREAS NEEDING COORDINATION FOR ITS USE
F) SFC G) 08500FT AMSL

D1140/26
MAR 10 23 26 2000-2359, MAR 11 27 0000-0600 2000-2359, MAR 12 24 ,
28 0000-0600, MAR 16-17 0700-1700, APR 01-02 0600-1600
TEMPO **DANGER** AREA FOR UNMANNED ACFT **ACTIVATED** FLYING
WI COORD:
362007N 0072303W
362000N 0072130W
361418N 0064302W
361330N 0063800W
355359N 0064203W
355400N 0072301W
362007N 0072303W.
AREA 6 GULF OF CADIZ.
RMK:
COORDINATION PHONE NUMBER: +33 749960453
OVERFLIGHT CLEARED ONLY ACFT PROPERLY AUTHORIZED, STATE ACFT, ACFT
OF THE FORCES AND CORPS OF STATE SECURITY AND ACFT OF THE
EMERGENCY SERVICES.
THE ACTIVATION/DEACTIVATION OF THIS AREA WILL BE CARRIED OUT
IN REAL TIME BY TACTICAL COORDINATION WITH SEVILLA ACC AND ECAO
SEVILLA.
HE ACTIVATION OF THE AREA WILL BE CONDITIONED TO THE ABSENCE OF
OTHER COINCIDING **ACTIVE** AREAS NEEDING COORDINATION FOR ITS USE
F) SFC G) 08500FT AMSL

D1144/26
MAR 10 2000-2359, MAR 11 0000-0600 2000-2359, MAR 12 24 28 ,
0000-0600, MAR 16-17 20 0700-1700, MAR 23 26 2000-2359, MAR 27 ,
0000-0600 2000-2359, APR 01-02 0600-1600
TEMPO **DANGER** AREA FOR UNMANNED ACFT **ACTIVATED**
WI COORD 360000N 0062131W - 360000N 0060738W -
355808N 0060401W - 355400N 0060854W - 355400N 0064203W -
355849N 0064103W - 355846N 0062149W - 360000N 0062131W
AREA 8 GULF OF CADIZ
RMK:
COORDINATION PHONE NUMBER: +33 749960453
OVERFLIGHT CLEARED ONLY ACFT PROPERLY AUTHORIZED, STATE ACFT, ACFT
OF THE FORCES AND CORPS OF STATE SECURITY AND ACFT OF THE
EMERGENCY SERVICES.
THE ACTIVATION/DEACTIVATION OF THIS AREA WILL BE CARRIED OUT
IN REAL TIME BY TACTICAL COORDINATION WITH SEVILLA ACC AND ECAO
SEVILLA.
THE ACTIVATION OF THE AREA WILL BE CONDITIONED TO THE ABSENCE OF
OTHER COINCIDING **ACTIVE** AREAS NEEDING COORDINATION FOR ITS USE
F) SFC G) 04500FT AMSL

D1145/26
MAR 10 2000-2359, MAR 11 0000-0600 2000-2359, MAR 12 24 28 ,
0000-0600, MAR 16-17 20 0700-1700, MAR 23 26 2000-2359, MAR 27 ,
0000-0600 2000-2359, APR 01-02 0600-1600
TEMPO **DANGER** AREA FOR UNMANNED ACFT **ACTIVATED**
WI COORD 365758N 0072258W - 365808N 0072129W -
362000N 0072130W - 362007N 0072303W - 365758N 0072258W
CORRIDOR B GULF OF CADIZ
RMK:
COORDINATION PHONE NUMBER: +33 749960453
OVERFLIGHT CLEARED ONLY ACFT PROPERLY AUTHORIZED, STATE ACFT, ACFT
OF THE FORCES AND CORPS OF STATE SECURITY AND ACFT OF THE
EMERGENCY SERVICES.
THE ACTIVATION/DEACTIVATION OF THIS AREA WILL BE CARRIED OUT
IN REAL TIME BY TACTICAL COORDINATION WITH SEVILLA ACC AND ECAO
SEVILLA.
THE ACTIVATION OF THE AREA WILL BE CONDITIONED TO THE ABSENCE OF
OTHER COINCIDING **ACTIVE** AREAS NEEDING COORDINATION FOR ITS USE
F) SFC G) 08500FT AMSL

D1147/26
MAR 10 2000-2359, MAR 11 0000-0600 2000-2359, MAR 12 24 ,
0000-0600, MAR 23 26 2000-2359, MAR 27 0000-0600 2000-2359, MAR 28
, 0000-0600
TEMPO **DANGER** AREA FOR UNMANNED ACFT **ACTIVATED**
WI COORD 361622N 0045006W - 355959N 0045001W -
355959N 0050417W - 360615N 0050620W - 361432N 0050039W -
361607N 0045504W - 361622N 0045006W
AREA R-14B MAR DE ALBORAN
RMK:
COORDINATION PHONE NUMBER: +33 749960453
OVERFLIGHT CLEARED ONLY ACFT PROPERLY AUTHORIZED, STATE ACFT, ACFT
OF THE FORCES AND CORPS OF STATE SECURITY AND ACFT OF THE
EMERGENCY SERVICES.
THE ACTIVATION/DEACTIVATION OF THIS AREA WILL BE CARRIED OUT
IN REAL TIME BY TACTICAL COORDINATION WITH SEVILLA ACC AND ECAO
SEVILLA.
THE ACTIVATION OF THE AREA WILL BE CONDITIONED TO THE ABSENCE OF
OTHER COINCIDING **ACTIVE** AREAS NEEDING COORDINATION FOR ITS USE
F) SFC G) 01500FT AMSL

D1148/26
MAR 10 2000-2359, MAR 11 0000-0600 2000-2359, MAR 12 24 ,
0000-0600, MAR 23 26 2000-2359, MAR 27 0000-0600 2000-2359, MAR 28
, 0000-0600
TEMPO **DANGER** AREA FOR UNMANNED ACFT **ACTIVATED**
WI COORD 355959N 0050417W - 355959N 0044641W -
355001N 0045358W - 355001N 0050103W - 355959N 0050417W
AREA D-13 MAR DE ALBORAN
RMK:
COORDINATION PHONE NUMBER: +33 749960453
OVERFLIGHT CLEARED ONLY ACFT PROPERLY AUTHORIZED, STATE ACFT, ACFT
OF THE FORCES AND CORPS OF STATE SECURITY AND ACFT OF THE
EMERGENCY SERVICES.
THE ACTIVATION/DEACTIVATION OF THIS AREA WILL BE CARRIED OUT
IN REAL TIME BY TACTICAL COORDINATION WITH SEVILLA ACC AND ECAO
SEVILLA.
THE ACTIVATION OF THE AREA WILL BE CONDITIONED TO THE ABSENCE OF
OTHER COINCIDING **ACTIVE** AREAS NEEDING COORDINATION FOR ITS USE
F) SFC G) 04500FT AMSL

D1150/26
MAR 10 2000-2359, MAR 11 0000-0600 2000-2359, MAR 12 24 ,
0000-0600, MAR 23 26 2000-2359, MAR 27 0000-0600 2000-2359, MAR 28
, 0000-0600
TEMPO **DANGER** AREA FOR UNMANNED ACFT **ACTIVATED**
WI COORD WI COORD 361152N 0043758W - 361049N 0040142W -
355035N 0034214W - 355001N 0045359W - 361152N 0043758W
AREA D-17 MAR DE ALBORAN
RMK:
COORDINATION PHONE NUMBER: +33 749960453
OVERFLIGHT CLEARED ONLY ACFT PROPERLY AUTHORIZED, STATE ACFT, ACFT
OF THE FORCES AND CORPS OF STATE SECURITY AND ACFT OF THE
EMERGENCY SERVICES.
THE ACTIVATION/DEACTIVATION OF THIS AREA WILL BE CARRIED OUT
IN REAL TIME BY TACTICAL COORDINATION WITH SEVILLA ACC AND ECAO
SEVILLA.
THE ACTIVATION OF THE AREA WILL BE CONDITIONED TO THE ABSENCE OF
OTHER COINCIDING **ACTIVE** AREAS NEEDING COORDINATION FOR ITS USE
F) SFC G) 04500FT AMSL

D1151/26
MAR 10 2000-2359, MAR 11 0000-0600 2000-2359, MAR 12 24 ,
0000-0600, MAR 23 26 2000-2359, MAR 27 0000-0600 2000-2359, MAR 28
, 0000-0600
TEMPO **DANGER** AREA FOR UNMANNED ACFT **ACTIVATED**
WI COORD 361949N 0045007W - 361226N 0043807W -
361152N 0043758W - 355959N 0044641W - 355959N 0045001W -
361949N 0045007W
AREA D-15 MAR DE ALBORAN
RMK:
COORDINATION PHONE NUMBER: +33 749960453
OVERFLIGHT CLEARED ONLY ACFT PROPERLY AUTHORIZED, STATE ACFT, ACFT
OF THE FORCES AND CORPS OF STATE SECURITY AND ACFT OF THE
EMERGENCY SERVICES.
THE ACTIVATION/DEACTIVATION OF THIS AREA WILL BE CARRIED OUT
IN REAL TIME BY TACTICAL COORDINATION WITH SEVILLA ACC AND ECAO
SEVILLA.
THE ACTIVATION OF THE AREA WILL BE CONDITIONED TO THE ABSENCE OF
OTHER COINCIDING **ACTIVE** AREAS NEEDING COORDINATION FOR ITS USE
F) SFC G) 03350FT AMSL

D1165/26
MAR 10 2000-2359, MAR 11 0000-0600 2000-2359, MAR 12 24 28 ,
0000-0600, MAR 23 26 2000-2359, MAR 27 0000-0600 2000-2359, APR ,
01-02 0600-1600
TEMPO SEGREGATED AREA **ACTIVATED** FOR UNMANNED ACFT FLYING
WI COORD: 370536N 0070137W - 365033N 0064303W -
365942N 0070628W - 365808N 0072129W - 370229N 0072130W -
370536N 0070137W
AREA 3A GULF OF CADIZ
RMK:
COORDINATION PHONE NUMBER: +33 749960453
OVERFLIGHT CLEARED ONLY ACFT PROPERLY AUTHORIZED, STATE ACFT, ACFT
OF THE FORCES AND CORPS OF STATE SECURITY AND ACFT OF THE
EMERGENCY SERVICES.
THE ACTIVATION/DEACTIVATION OF THIS AREA WILL BE CARRIED OUT
IN REAL TIME BY TACTICAL COORDINATION WITH SEVILLA ACC AND ECAO
SEVILLA.
THE ACTIVATION OF THE AREA WILL BE CONDITIONED TO THE ABSENCE OF
OTHER COINCIDING **ACTIVE** AREAS NEEDING COORDINATION FOR ITS USE
F) SFC G) 08500FT AMSL

D1169/26
MAR 10 2000-2359, MAR 11 0000-0600 2000-2359, MAR 12 24 28 ,
0000-0600, MAR 23 26 2000-2359, MAR 27 0000-0600 2000-2359
TEMPO SEGREGATED AREA **ACTIVATED** FOR UNMANNED ACFT
FLYING WI COORD:
362633N 0050109W
361949N 0045007W
361622N 0045006W
361607N 0045504W
361432N 0050039W
360615N 0050620W
355959N 0050417W
355959N 0051003W
360610N 0051617W
361039N 0051613W
362518N 0050446W
362633N 0050109W
AREA R-14A MAR DE ALBORAN
RMK:
COORDINATION PHONE NUMBER: +33 749960453
OVERFLIGHT CLEARED ONLY ACFT PROPERLY AUTHORIZED, STATE ACFT, ACFT
OF THE FORCES AND CORPS OF STATE SECURITY AND ACFT OF THE
EMERGENCY SERVICES.
THE ACTIVATION/DEACTIVATION OF THIS AREA WILL BE CARRIED OUT
IN REAL TIME BY TACTICAL COORDINATION WITH SEVILLA ACC AND ECAO
SEVILLA.
THE ACTIVATION OF THE AREA WILL BE CONDITIONED TO THE ABSENCE OF
OTHER COINCIDING **ACTIVE** AREAS NEEDING COORDINATION FOR ITS USE
F) SFC G) 01500FT AMSL

D0936/26
10-12 24-26 31 1700-2359
LED90B **ACTIVATED** FOR AIR OPS
UPPER VERTICAL LIMIT MODIFIED
RMK: THE ACTIVATION/DEACTIVATION OF THIS AREA WILL BE CARRIED OUT
IN REAL TIME BY TACTICAL COORDINATION WITH ECAO (OPERATIVE
AIR TRAFFIC SQUADRON) SEVILLA
F) SFC G) 03000FT AMSL

D0937/26
10 24 1700-2359, 11-12 25-26 31 2000-2359
LED90C **ACTIVATED** FOR AIR OPS
UPPER VERTICAL LIMIT MODIFIED
RMK: THE ACTIVATION/DEACTIVATION OF THIS AREA WILL BE CARRIED OUT
IN REAL TIME BY TACTICAL COORDINATION WITH ECAO (OPERATIVE
AIR TRAFFIC SQUADRON) SEVILLA
F) SFC G) 03000FT AMSL

D1122/26

TEMPORARY SEGREGATED AREAS FOR UNMANNED AIRCRAFT VEHICLES
FLYING **ACTIVATED** AS FOLLOWS:
THE ACTIVATION/DEACTIVATION OF THESE AREAS WILL BE CARRIED OUT
IN REAL TIME BY TACTICAL COORDINATION WITH THE APPROPRIATE ECAO
(OPERATIVE AIR TRAFFIC SQUADRON) OR APP IN EACH AREA.
SEGREGATED AREAS:
TSA PASILLO ZAFRA
LATERAL LIMITS: 383244N 0065303W, 375354N 0063241W,
380343N 0065655W, 383244N 0065303W.
VERTICAL LIMITS: FL245/FL275
DATES AND TIMES: MAR 10-13 16 18-20 HR 0730-1930
RMK: ANY FLT INTERESTED IN USING AFFECTED AIRSPACE MUST CONTACT
WITH TALAVERA APP/TWR IN ORDER TO UPDATE ACTIVATION STATUS.
TSA PASILLO HUELVA WHISKY
LATERAL LIMITS: 380456N 0064521W, 375913N 0063315W,
375048N 0070541W, 373231N 0071738W,
372835N 0071609W, 372806N 0071315W,
372841N 0070930W, 371546N 0070423W,
371642N 0071421W, 371950N 0071533W,
372106N 0072431W, 373321N 0072911W,
375753N 0071313W, 380456N 0064521W.
VERTICAL LIMITS: FL245/FL275
DATES AND TIMES: MAR 10-13 16 18-20 HR 0730-1930
TSA PASILLO HUELVA
LATERAL LIMITS: 380535N 0064722W, 380020N 0063559W,
371840N 0070733W, 372027N 0071943W,
380535N 0064722W.
VERTICAL LIMITS: FL245/FL275
DATES AND TIMES: MAR 10-13 16 18-20 HR 0730-1930
RMK: THE AREA WILL BE PLANNABLE WITH ACTIVATION/DEACTIVATION BY

355048N 0063726W, 355029N 0065044W,
363035N 0070224W.
VERTICAL LIMITS: FL245/FL275
DATES AND TIMES: MAR 10-13 16 18-20 HR 0730-1930
RMK: THE AREA WILL BE PLANNABLE WITH ACTIVATION/DEACTIVATION BY
TACTICAL COORDINATION WITH ECAO (OPERATIVE AIR TRAFFIC
SQUADRON) SEVILLA.
TSA ESTRECHO 1W
LATERAL LIMITS: 355827N 0064739W, 355832N 0061514W,
355117N 0062132W, 355037N 0064945W,
355827N 0064739W.
VERTICAL LIMITS: FL245/FL275
DATES AND TIMES: MAR 10-13 16 18-20 HR 0700-1900
RMK: THE AREA WILL BE PLANNABLE WITH ACTIVATION/DEACTIVATION BY
TACTICAL COORDINATION WITH ECAO (OPERATIVE AIR TRAFFIC
SQUADRON) SEVILLA.
TSA ESTRECHO 1E
LATERAL LIMITS: 355108N 0062449W, 355834N 0061829W,
355838N 0055331W, 355202N 0055256W,
355108N 0062449W.
VERTICAL LIMITS: FL245/FL275
DATES AND TIMES: MAR 10-13 16 18-20 HR 0700-1900
RMK: THE AREA WILL BE PLANNABLE WITH ACTIVATION/DEACTIVATION BY
TACTICAL COORDINATION WITH ECAO (OPERATIVE AIR TRAFFIC
SQUADRON) SEVILLA.
TSA ESTRECHO 2
LATERAL LIMITS: 355211N 0055413W, 355700N 0052900W,
355551N 0050739W, 360501N 0050012W,
360457N 0052249W, 360104N 0055442W,
355211N 0055413W.

VERTICAL LIMITS: FL245/FL275
DATES AND TIMES: MAR 10-13 16 18-20 HR 0700-1900

TACTICAL COORDINATION WITH ECAO (OPERATIVE AIR TRAFFIC SQUADRON) SEVILLA.
TSA ANDEVALO
LATERAL LIMITS: 372343N 0071707W, 372516N 0070807W, 370053N 0065830W, 365908N 0070718W, 372343N 0071707W.
VERTICAL LIMITS: FL245/FL275
DATES AND TIMES: MAR 10-13 16 18-20 HR 0730-1930
RMK: THE AREA WILL BE PLANNABLE WITH ACTIVATION/DEACTIVATION BY TACTICAL COORDINATION WITH ECAO (OPERATIVE AIR TRAFFIC SQUADRON) SEVILLA.
TSA GOLFO
LATERAL LIMITS: 365532N 0072130W, 370423N 0070923W, 370536N 0070136W, 365032N 0064303W, 363556N 0064301W, 363452N 0063303W, 355130N 0064230W, 355700N 0072130W, 365532N 0072130W.
VERTICAL LIMITS: FL245/FL275
DATES AND TIMES: MAR 10-13 16 18-20 HR 0730-1930
RMK: THE AREA WILL BE PLANNABLE WITH ACTIVATION/DEACTIVATION BY TACTICAL COORDINATION WITH ECAO (OPERATIVE AIR TRAFFIC SQUADRON) SEVILLA.
TSA GOLFO NORTH
LATERAL LIMITS: 370324N 0071202W, 370538N 0070010W, 362751N 0064849W, 362544N 0070058W, 370324N 0071202W.
VERTICAL LIMITS: FL245/FL275
DATES AND TIMES: MAR 10-13 16 18-20 HR 0730-1930
RMK: THE AREA WILL BE PLANNABLE WITH ACTIVATION/DEACTIVATION BY TACTICAL COORDINATION WITH ECAO (OPERATIVE AIR TRAFFIC SQUADRON) SEVILLA.
TSA GOLFO SOUTH
LATERAL LIMITS: 363035N 0070224W, 363249N 0065021W,

TSA CORREDOR SUR 3
LATERAL LIMITS: 361033N 0024402W, 361033N 0021433W, 362221N 0015804W, 355041N 0020607W, 355041N 0030223W, 361033N 0024402W.
VERTICAL LIMITS: FL245/FL275
DATES AND TIMES: MAR 10-13 16 18-20 HR 0700-1900
RMK: THE AREA WILL BE PLANNABLE WITH ACTIVATION/DEACTIVATION BY TACTICAL COORDINATION WITH ECAO (OPERATIVE AIR TRAFFIC SQUADRON) SEVILLA.
F) FL245 G) FL275

D1130/26
0700-1900
LED14 **ACTIVATED** FOR REAL GUN FIRING
UPPER VERTICAL LIMIT MODIFIED
RMK: THE AREA WILL BE TREATED AS TSA.
THE ACTIVATION/DEACTIVATION OF THIS AREA WILL BE CARRIED OUT
IN REAL TIME BY TACTICAL COORDINATION WITH ECAO (OPERATIVE
AIR TRAFFIC SQUADRON) MADRID.
F) SFC G) 10000FT AMSL

D0865/26 VALID: 09-MAR-26 0900 - 20-MAR-26 1300
09-11 17-20 0900-1300
TEMPORARY SEGREGATED AREA FOR UNMANNED AIRCRAFT VEHICLE
FLYING **ACTIVATED** WI 415605N 0005700W, 415047N 0005336W,
414650N 0005322W, 414344N 0005105W, 414130N 0005253W,
414847N 0010804W, 415154N 0010818W, 415456N 0010234W
415605N 0005700W
(LATERAL LIMITS COINCIDENTAL WITH LED70A)
ZARAGOZA/SAN GREGORIO
F) SFC G) 03280FT AMSL

D1087/26
09-13 16-20 23-27 0830-1400
TEMPORARY SEGREGATED AREA FOR UNMANNED AIRCRAFT VEHICLES
FLYING **ACTIVATED** WI 424000N 0055050W, 425113N 0054146W,
425117N 0060432W, 424704N 0061449W, 423959N 0061439W,
424000N 0055050W
LEON/GROSA-HOLDING ZONE
RMK: THE ACTIVATION/DEACTIVATION OF THIS AREA WILL BE CARRIED OUT
IN REAL TIME BY TACTICAL COORDINATION WITH LEON TWR AND WITH
ECAO (OPERATIVE AIR TRAFFIC SQUADRON) MADRID.
F) 05000FT AMSL G) FL100

D1092/26
09-13 16-20 23-27 0830-1400
TEMPORARY SEGREGATED AREA FOR UNMANNED AIRCRAFT VEHICLES
FLYING **ACTIVATED** WI 422726N 0064355W, 423905N 0061544W,
423021N 0060859W, 422121N 0062349W, 421840N 0061723W,
422256N 0060213W, 420536N 0054903W, 415951N 0060938W,
422726N 0064355W
LEON/GROSA-WORKING ZONE 3-TELENO
RMK: THE ACTIVATION/DEACTIVATION OF THIS AREA WILL BE CARRIED OUT
IN REAL TIME BY TACTICAL COORDINATION WITH LEON TWR AND WITH
ECAO (OPERATIVE AIR TRAFFIC SQUADRON) MADRID.
F) FL080 G) FL155

D1089/26
09-13 16-20 23-27 0830-1400
TEMPORARY SEGREGATED AREA FOR UNMANNED AIRCRAFT VEHICLES
FLYING **ACTIVATED** WI 430113N 0063844W, 430113N 0060733W,
423847N 0060727W, 423857N 0061539W, 423321N 0062933W,
430113N 0063844W
LEON/GROSA-WORKING ZONE 1 LOW-VILLABLINO
RMK: THE ACTIVATION/DEACTIVATION OF THIS AREA WILL BE CARRIED OUT
IN REAL TIME BY TACTICAL COORDINATION WITH LEON TWR AND WITH
ECAO (OPERATIVE AIR TRAFFIC SQUADRON) MADRID.
F) FL080 G) FL135

D1090/26
09-13 16-20 23-27 0830-1400
TEMPORARY SEGREGATED AREA FOR UNMANNED AIRCRAFT VEHICLES
FLYING **ACTIVATED** WI 430113N 0063844W, 430110N 0062345W,
423855N 0061539W, 423321N 0062933W, 430113N 0063844W
LEON/GROSA-WORKING ZONE 1 HIGH-VILLABLINO
RMK: THE ACTIVATION/DEACTIVATION OF THIS AREA WILL BE CARRIED OUT
IN REAL TIME BY TACTICAL COORDINATION WITH LEON TWR AND WITH
ECAO (OPERATIVE AIR TRAFFIC SQUADRON) MADRID.
F) FL125 G) FL155

D1091/26
09-13 16-20 23-27 0830-1400
TEMPORARY SEGREGATED AREA FOR UNMANNED AIRCRAFT VEHICLES
FLYING **ACTIVATED** WI 423024N 0062152W, 430223N 0063153W,
425513N 0065028W, 424532N 0070231W, 422324N 0063858W,
423024N 0062152W
LEON/GROSA-WORKING ZONE 2-BIERZO
RMK: THE ACTIVATION/DEACTIVATION OF THIS AREA WILL BE CARRIED OUT
IN REAL TIME BY TACTICAL COORDINATION WITH LEON TWR AND WITH
ECAO (OPERATIVE AIR TRAFFIC SQUADRON) MADRID.
F) FL080 G) FL155

D1137/26
0800-2100
TEMPO SEGREGATED AREA **ACTIVATED** FOR UAS WI COORD:
402340N 0035237W
402643N 0035330W
402647N 0035034W
402358N 0035036W
402340N 0035237W
BOADILLA DEL MONTE, MADRID
F) SFC G) 00030M AGL

D1048/26
TEMPORARY SEGREGATED AREAS FOR UNMANNED AIRCRAFT VEHICLES
FLYING **ACTIVATED** AS FOLLOWS:
THE ACTIVATION/DEACTIVATION OF THESE AREAS WILL BE CARRIED OUT
IN REAL TIME BY TACTICAL COORDINATION WITH THE APPROPRIATE ECAO
(OPERATIVE AIR TRAFFIC SQUADRON) OR APP IN EACH AREA.
SEGREGATED AREAS:
TSA MERIBURG A
LATERAL LIMITS: 392631N 0061128W, 392428N 0061038W,
392349N 0060802W, 392535N 0060000W,
394929N 0054714W, 395041N 0055900W,
392631N 0061128W.
VERTICAL LIMITS: FL185/FL215
DATES AND TIMES: MAR 09-13 16 19-20 HR 0730-1930
MAR 17 HR 1600-2359
MAR 18 HR 0000-1930
RMK: THE AREA WILL BE PLANNABLE WITH ACTIVATION/DEACTIVATION BY
TACTICAL COORDINATION WITH THE APPROPIATE ECAO (OPERATIVE
AIR TRAFFIC SQUADRON).
TSA MERIBURG B
LATERAL LIMITS: 394545N 0060133W, 394445N 0054946W,
401013N 0053500W, 401342N 0054618W,
394545N 0060133W.
VERTICAL LIMITS: FL185/FL215
DATES AND TIMES: MAR 09-13 16 19-20 HR 0730-1930
MAR 17 HR 1600-2359
MAR 18 HR 0000-1930
RMK: THE AREA WILL BE PLANNABLE WITH ACTIVATION/DEACTIVATION BY
TACTICAL COORDINATION WITH THE APPROPIATE ECAO (OPERATIVE
AIR TRAFFIC SQUADRON).
TSA MERIBURG C
LATERAL LIMITS: 400858N 0054850W, 400543N 0053728W,
405020N 0051342W, 405519N 0052428W,
400858N 0054850W.
END PART 1 OF 2

VERTICAL LIMITS: FL185/FL215
DATES AND TIMES: MAR 09-13 16 19-20 HR 0730-1930
MAR 17 HR 1600-2359
MAR 18 HR 0000-1930
RMK: THE AREA WILL BE PLANNABLE WITH ACTIVATION/DEACTIVATION BY
TACTICAL COORDINATION WITH THE APPROPIATE ECAO (OPERATIVE
AIR TRAFFIC SQUADRON).
TSA MERIBURG D
LATERAL LIMITS: 405029N 0052658W, 404542N 0051613W,
412517N 0045413W, 413311N 0050442W,
405029N 0052658W.
VERTICAL LIMITS: FL185/FL215
DATES AND TIMES: MAR 09-13 16 19-20 HR 0730-1930
MAR 17 HR 1600-2359
MAR 18 HR 0000-1930
RMK: THE AREA WILL BE PLANNABLE WITH ACTIVATION/DEACTIVATION BY
TACTICAL COORDINATION WITH THE APPROPIATE ECAO (OPERATIVE
AIR TRAFFIC SQUADRON).
F) FL185 G) FL215
END PART 2 OF 2

D1117/26
SR-SS
TEMPO SEGREGATED AREA **ACTIVATED** FOR UAS WI COORD:
383352N 0025516W
384259N 0025426W
384321N 0024907W
384428N 0024822W
384516N 0024813W
384514N 0024452W
383728N 0023213W
382959N 0023238W
383021N 0023819W
383219N 0023936W
383256N 0024651W
383404N 0024707W
383444N 0025152W
383352N 0025516W
ALBALADEJO, CIUDAD REAL.
RMK:
COORDINATION PHONE NUMBER: +34 948 572 230 / +34 669 408 833
COORDINATION MAIL: COORDINACIONES(AT)FUVEX.COM
F) SFC G) 00100M AGL

D0650/26
0633-1823
TEMPO SEGREGATED AREA **ACTIVATED** FOR UNMANNED ACFT FLYING
WI COORD 411703N 0020839W - 411912N 0020837W - 411904N 0015538W -
411653N 0015537W - 411703N 0020839W
ARIZA, ZARAGOZA
RMK:
CORDINATION PHONE NUMBER: +34 636 440 147 / +34 669 408 833
CORDINATION MAIL: COORDINACIONES(AT)FUVEX.COM
F) SFC G) 00100M AGL

D1027/26
09-22 SR-SS, 28-31 SR-SS
TEMPO SEGREGATED AREA **ACTIVATED** FOR UNMANNED ACFT FLYING
WI COORD 394850N 0012112W - 395543N 0011127W -
395739N 0011112W - 400033N 0011605W - 395749N 0011806W -
400121N 0012137W - 400409N 0013241W - 395927N 0013249W -
395925N 0013007W - 395739N 0012813W - 395534N 0012839W -
395220N 0013132W - 395127N 0013032W - 395201N 0012526W -
394920N 0012455W - 394810N 0012250W - 394859N 0012204W -
394850N 0012112W
LANDETE, CUENCA
RMK:
COORDINATION PHONE NUMBER: +34 636 440 147 / +34 669 408 833
COORDINATION MAIL: COORDINACIONES(AT)FUVEX.COM
F) SFC G) 00100M AGL

D1121/26
SR-SS
TEMPO SEGREGATED AREA **ACTIVATED** FOR UAS WI COORD:
403148N 0045405W
403208N 0045333W
403208N 0045204W
403111N 0045205W
403112N 0045349W
403148N 0045405W
CASTRO DE ULACA, AVILA.
RMK:
COORDINATION PHONE NUMBER: +34 687 290 341 / +34 619 804 254
COORDINATION MAIL: C.RODRIGUEZ(AT)INVICSA-AIRTECH.COM
F) SFC G) 00120M AGL

D0627/26
06 09 11 13 16 18 20 23 27 0730-1400, 10 12 17 19 26 0730-1700
LED90B **ACTIVATED** FOR REAL GUN FIRING
UPPER VERTICAL LIMIT MODIFIED.
RMK: THE AREA WILL BE TREATED AS TSA.
THE ACTIVATION/DEACTIVATION OF THIS AREA WILL BE CARRIED OUT
IN REAL TIME BY TACTICAL COORDINATION WITH ECAO (OPERATIVE
AIR TRAFFIC SQUADRON) SEVILLA.
F) SFC G) 28000FT AMSL

D0703/26
SR-SS
TEMPO RESTRICTED AREA **ACTIVATED** FOR UNMANNED ACFT FLYING
WI COORD 402910N 0014549W - 403315N 0020058W -
404220N 0020919W - 404201N 0021544W - 404746N 0022138W -
405614N 0015938W - 405130N 0015015W - 404310N 0015005W -
403505N 0013917W - 403101N 0013938W - 402910N 0014549W
TARAVILLA, GUADALAJARA
RMK:
CORDINATION PHONE NUMBER: +34 680 836 208/ +34 669 408 833
CORDINATION MAIL: COORDINACIONES(AT)FUVEX.COM
F) SFC G) 00100M AGL

D0702/26
SR-SS
TEMPO SEGREGATED AREA **ACTIVATED** FOR UNMANNED ACFT FLYING
WI COORD 401349N 0015336W - 401349N 0015331W -
401318N 0014905W - 400543N 0013702W - 400338N 0013910W -
400125N 0014633W - 400256N 0015227W - 400709N 0015208W -
401148N 0015501W - 401349N 0015336W
VALDEMORO-SIERRA, CUENCA
RMK:
CORDINATION PHONE NUMBER: +34 680 836 208/ +34 669 408 833
CORDINATION MAIL: COORDINACIONES(AT)FUVEX.COM
F) SFC G) 00100M AGL

D0429/26
03-04 10 12 2030-2150, 30-31 0800-2150
LED122 **ACTIVATED** FOR AIR OPERATIONS
LOWER AND UPPER VERTICAL LIMITS MODIFIED
RMK: THE ACTIVATION/DEACTIVATION OF THIS AREA WILL BE CARRIED OUT
IN REAL TIME BY TACTICAL COORDINATION WITH ECAO (OPERATIVE
AIR TRAFFIC SQUADRON) SEVILLA.
F) FL110 G) FL240

D0430/26
03 10-12 2030-2150, 06 0900-2150, 30-31 0800-2150
LED129 **ACTIVATED** FOR AIR OPERATIONS
LOWER AND UPPER VERTICAL LIMITS MODIFIED
RMK: THE ACTIVATION/DEACTIVATION OF THIS AREA WILL BE CARRIED OUT
IN REAL TIME BY TACTICAL COORDINATION WITH ECAO (OPERATIVE
AIR TRAFFIC SQUADRON) SEVILLA.
F) FL110 G) FL240

D0955/26
03-04 10-12 2030-2150, 09 1400-2150, 30-31 0800-2150
AIR OPERATIONS WI 365531N 0072129W, 370430N 0070731W,
370537N 0070137W, 365033N 0064303W, 362000N 0072130W,
365531N 0072129W
HUELVA/D-121 REDUCIDA
RMK: THE ACTIVATION/DEACTIVATION OF THIS AREA WILL BE CARRIED OUT
IN REAL TIME BY TACTICAL COORDINATION WITH ECAO (OPERATIVE
AIR TRAFFIC SQUADRON) SEVILLA.
F) FL110 G) FL240

D0991/26
TEMPO RESTRICTED AREA **ACTIVATED** FOR UNMANNED ACFT FLYING
WI COORD 402508N 0031757W - 402556N 0031755W -
402526N 0025622W - 402004N 0025900W - 402103N 0030143W -
401939N 0030603W - 402046N 0031245W - 402230N 0031428W -
402246N 0031916W - 402516N 0031849W - 402510N 0031823W -
402508N 0031757W
VILLALBILLA, MADRID
RMK:
PHONE NUMBER: +34 661 810 529
F) 00120M AGL G) 00400M AGL

D0994/26
SR-SS
TEMPO SEGREGATED AREA **ACTIVATED** FOR UNMANNED ACFT
FLYING WI COORD 385130N 0034707W - 385054N 0034423W -
384505N 0033927W - 384213N 0034516W - 384219N 0034657W -
384338N 0034659W - 384801N 0034952W - 385130N 0034707W
GRANATULA DE CALATRAVA, CIUDAD REAL
RMK:
COORDINATION PHONE NUMBER: +34 636 440 147 / +34 669 408 833
COORDINATION MAIL: COORDINACIONES(AT)FUVEX.COM
F) SFC G) 00100M AGL

D0542/26
03 05 10 12 17 19 24 26 31 0700-1200 1400-1900 2000-2359
LETS37 ACT FOR UNMANNED ACFT VEHICLES FLYING
AND REAL GUN FIRING
RMK: THE ACTIVATION/DEACTIVATION OF THIS AREA WILL BE CARRIED OUT
IN REAL TIME BY TACTICAL COORDINATION WITH ECAO (OPERATIVE
AIR TRAFFIC SQUADRON) SEVILLA
F) SFC G) 11000FT AMSL

D0887/26
02 1400-2000, 06 09 16-20 23 0600-0800 1400-2000, 10 12 ,
0700-0800, 13 24-27 0700-2000
AIR OPERATIONS WI 365531N 0072129W, 370430N 0070731W,
370537N 0070137W, 365033N 0064303W, 362000N 0072130W,
365531N 0072129W
HUELVA/D-121 REDUCIDA
RMK: THE ACTIVATION/DEACTIVATION OF THIS AREA WILL BE CARRIED OUT
IN REAL TIME BY TACTICAL COORDINATION WITH ECAO (OPERATIVE
AIR TRAFFIC SQUADRON) SEVILLA
F) SFC G) FL245

D0898/26
02 1200-2000, 03 05 1600-2000, 06 09 11-13 16 18-20 23 25-27 ,
0700-2000, 04 0800-1600
LED90C **ACTIVATED** FOR REAL GUN FIRING AND AIR OPERATIONS
UPPER VERTICAL LIMIT MODIFIED.
RMK: THE AREA WILL BE TREATED AS TSA.
THE ACTIVATION/DEACTIVATION OF THIS AREA WILL BE CARRIED OUT
IN REAL TIME BY TACTICAL COORDINATION WITH ECAO (OPERATIVE
AIR TRAFFIC SQUADRON) SEVILLA.
F) SFC G) FL280

D0884/26
02-05 23-26 0900-1300 1500-2130, 06 0900-1200, 10-12 0900-1300
TEMPORARY SEGREGATED AREA FOR UNMANNED AIRCRAFT
VEHICLE FLYING **ACTIVATED** WI 375103N 0014758W, 375057N 0013901W,
374517N 0013925W, 374501N 0014826W, 375103N 0014758W
MURCIA/ALAGUECES
F) SFC G) 03100FT AMSL

D0602/26
MAR 02-03 06 13 20 27 0800-1400, MAR 05 09-12 16-19 23-26 ,
0800-1400 1800-2300, MAR 30-31 0700-1300 1700-2200, APR 01-02 ,
0700-1300 1700-2200, APR 03 0700-1300
AIR EXERCISES HPMA (HIGH PERFORMANCE MILITARY AIRCRAFT)
WI 422543N 0010839W, 415500N 0001300E, 413643N 0000803E,
413916N 0003659W, 414711N 0003817W, 415636N 0004726W,
415938N 0010354W, 422543N 0010839W
ZARAGOZA/AREA 1-2-3
RMK: IFR FLT ARR/DEP LEHC WILL NOT BE AFFECTED BY THIS ACTIVITY.
RMK: ATS ROUTE P152 SHALL REMAIN FLIGHT PLANNABLE FOR GENERAL
AIR TRAFFIC, OPERATING UNDER TACTICAL COORDINATION
WITH TACC ZARAGOZA.
RMK: THE ACTIVATION/DEACTIVATION OF THIS AREA WILL BE CARRIED OUT
IN REAL TIME BY TACTICAL COORDINATION WITH TACC ZARAGOZA.
F) FL070 G) FL240

D0603/26
MAR 02-03 06 13 20 27 0800-1400, MAR 05 09-12 16-19 23-26 ,
0800-1400 1800-2300, MAR 30-31 0700-1300 1700-2200, APR 01-02 ,
0700-1300 1700-2200, APR 03 0700-1300
AIR EXERCISES HPMA (HIGH PERFORMANCE MILITARY AIRCRAFT)
WI 412300N 0011557W, 410900N 0023000W, 411800N 0023000W,
413525N 0021838W, 413854N 0013000W, 412300N 0011557W ZARAGOZA/AREA
C
RMK: THE ACTIVATION/DEACTIVATION OF THIS AREA WILL BE CARRIED OUT
IN REAL TIME BY TACTICAL COORDINATION WITH TACC ZARAGOZA.
F) FL070 G) FL240

D0155/26
02-06 09 11 13 16 18 20 23 25 27 0730-1400, 10 12 17 19 24 26 ,
0730-1700
FIRING EXERCISES WI 362735N 0061455W, 362704N 0061430W
362639N 0061411W, 361927N 0061334W, 361916N 0061654W
362735N 0061455W
CADIZ/GOLFO DE CADIZ
RMK: THE AREA WILL BE TREATED AS TSA.
THE ACTIVATION/DEACTIVATION OF THIS AREA WILL BE CARRIED OUT
IN REAL TIME BY TACTICAL COORDINATION WITH ECAO (OPERATIVE
AIR TRAFFIC SQUADRON) SEVILLA.
F) SFC G) 16500FT AMSL

D0504/26
02 04 09 11 16 18 23 25 30 0700-1200
LETS37 **ACTIVATED** FOR UNMANNED AIRCRAFT VEHICLES FLYING
UPPER VERTICAL LIMIT MODIFIED
F) SFC G) 04000FT AMSL

D0549/26
02 09 13 16-20 23-27 0700-2000, 10-12 0700-0800
LED129 **ACTIVATED** FOR AIR OPERATIONS
UPPER VERTICAL LIMIT MODIFIED
RMK: THE ACTIVATION/DEACTIVATION OF THIS AREA WILL BE CARRIED OUT
IN REAL TIME BY TACTICAL COORDINATION WITH ECAO (OPERATIVE
AIR TRAFFIC SQUADRON) SEVILLA.
F) SFC G) FL245

D0547/26
02 06 09 13 16-20 23-27 0700-2000, 10-12 0700-0800
LED122 **ACTIVATED** FOR AIR OPERATIONS
UPPER VERTICAL LIMIT MODIFIED
RMK: THE ACTIVATION/DEACTIVATION OF THIS AREA WILL BE CARRIED OUT
IN REAL TIME BY TACTICAL COORDINATION WITH ECAO (OPERATIVE
AIR TRAFFIC SQUADRON) SEVILLA.
F) SFC G) FL245

D0597/26
02 06 09 16 20 23 27 0700-1400
TEMPORARY SEGREGATED AREA FOR UNMANNED AIRCRAFT VEHICLE
FLYING **ACTIVATED** WI 370116N 0022229W, 365812N 0021955W,
365305N 0022149W, 365235N 0022316W, 365350N 0022547W,
370116N 0022229W (LATERAL LIMITS COINCIDENTAL WITH LED36)
ALMERIA/ALVAREZ DE SOTOMAYOR
F) SFC G) 04000FT AMSL

D0891/26
02 06 09 13 16-20 23-27 0700-2000, 10-12 0700-0800
AIR OPERATIONS WI 363555N 0064302W, 363451N 0063304W,
361318N 0063800W, 361418N 0064302W, 363555N 0064302W
HUELVA/D-128 REDUCIDA
RMK: EXER MUST BE COORDINATED WITH ECAO (OPERATIVE AIR TRAFFIC
SQUADRON) SEVILLA.
RMK: THE ACTIVATION/DEACTIVATION OF THIS AREA WILL BE CARRIED OUT
IN REAL TIME BY TACTICAL COORDINATION WITH ECAO (OPERATIVE
AIR TRAFFIC SQUADRON) SEVILLA.
F) SFC G) FL245

D0894/26
02 06 09-13 16-20 23-27 0700-2000, 03 05 0700-1100 1600-2000, 04 ,
1100-1600
LED90A **ACTIVATED** FOR REAL GUN FIRING AND AIR OPERATIONS
UPPER VERTICAL LIMIT MODIFIED.
RMK: THE AREA WILL BE TREATED AS TSA.
THE ACTIVATION/DEACTIVATION OF THIS AREA WILL BE CARRIED OUT
IN REAL TIME BY TACTICAL COORDINATION WITH ECAO (OPERATIVE
AIR TRAFFIC SQUADRON) SEVILLA.
F) SFC G) FL280

D0951/26
TEMPORARY SEGREGATED AREAS FOR UNMANNED AIRCRAFT VEHICLES
FLYING **ACTIVATED** AS FOLLOWS:
THE ACTIVATION/DEACTIVATION OF THESE AREAS WILL BE CARRIED OUT
IN REAL TIME BY TACTICAL COORDINATION WITH THE APROPRIATE ECAO
(OPERATIVE AIR TRAFFIC SQUADRON) OR APP IN EACH AREA.
SEGREGATED AREAS:
TSA TALAVERA LOW AUTOMATICO
LATERAL LIMITS: CIRCLE OF 08NM RADIUS CENTRED ON
385329N 0064917W.
VERTICAL LIMITS: SFC/5000FT AMSL
DATES AND TIMES: MAR 17 HR 1930-2359
MAR 18 HR 0000-0700
RMK: EXCEPTED FLT (EMERGENCY SITUATIONS) MUST COORDINATE WITH ATC
UNIT APPROPIATE PROCEDURE, IF DEACTIVATION IS NOT FEASIBLE
BEFORE ENTERING THE AREA.
RMK: ANY FLT INTERESTED IN USING AFFECTED AIRSPACE MUST CONTACT
WITH TALAVERA APP/TWR IN ORDER TO UPDATE ACTIVATION STATUS.
TSA TALAVERA LOW
LATERAL LIMITS: CIRCLE OF 5,9NM RADIUS CENTRED ON
385329N 0064917W.
VERTICAL LIMITS: SFC/2500FT AMSL
LATERAL LIMITS: CIRCLE OF 08NM RADIUS CENTRED ON
385329N 0064917W.
VERTICAL LIMITS: 2500FT/5000FT AMSL
DATES AND TIMES: MAR 17 HR 1930-2359
MAR 18 HR 0000-0700
RMK: EXCEPTED FLT (EMERGENCY SITUATIONS) MUST COORDINATE WITH ATC
UNIT APPROPIATE PROCEDURE, IF DEACTIVATION IS NOT FEASIBLE
BEFORE ENTERING THE AREA.
RMK: ANY FLT INTERESTED IN USING AFFECTED AIRSPACE MUST CONTACT
WITH TALAVERA APP/TWR IN ORDER TO UPDATE ACTIVATION STATUS.
END PART 1 OF 13

TSA TALAVERA LOW NORTH
LATERAL LIMITS: 385658N 0065446W, 385036N 0064303W,
FROM THIS POINT FOLLOWING AN ARC OF 5,9NM
RADIUS CENTRED ON 385329N 0064917W
COUNTER CLOCKWISE UP TO 385658N 0065446W.
VERTICAL LIMITS: SFC/2500FT AMSL
LATERAL LIMITS: 385821N 0065723W, 384911N 0064030W,
FROM THIS POINT FOLLOWING AN ARC OF 08NM
RADIUS CENTRED ON 385329N 0064917W
COUNTER CLOCKWISE UP TO 385821N 0065723W.
VERTICAL LIMITS: 2500FT AMSL/5000FT AMSL
DATES AND TIMES: MAR 17 HR 1930-2359
MAR 18 HR 0000-0700
RMK: EXCEPTED FLT (EMERGENCY SITUATIONS) MUST COORDINATE WITH ATC
UNIT APPROPIATE PROCEDURE, IF DEACTIVATION IS NOT FEASIBLE
BEFORE ENTERING THE AREA.
RMK: ANY FLT INTERESTED IN USING AFFECTED AIRSPACE MUST CONTACT
WITH TALAVERA APP/TWR IN ORDER TO UPDATE ACTIVATION STATUS.
TSA TALAVERA LOW SOUTH
LATERAL LIMITS: 385609N 0065527W, 384948N 0064351W,
FROM THIS POINT FOLLOWING AN ARC OF 5,9NM
RADIUS CENTRED ON 385329N 0064917W
CLOCKWISE UP TO 385609N 0065527W.
VERTICAL LIMITS: SFC/2500FT AMSL
LATERAL LIMITS: 385734N 0065803W, 384821N 0064118W,
FROM THIS POINT FOLLOWING AN ARC OF 08NM
RADIUS CENTRED ON 385329N 0064917W
CLOCKWISE UP TO 385734N 0065803W.

VERTICAL LIMITS: 2500FT AMSL/5000FT AMSL
DATES AND TIMES: MAR 17 HR 1930-2359
MAR 18 HR 0000-0700
RMK: EXCEPTED FLT (EMERGENCY SITUATIONS) MUST COORDINATE WITH ATC
UNIT APPROPIATE PROCEDURE, IF DEACTIVATION IS NOT FEASIBLE
BEFORE ENTERING THE AREA.
RMK: ANY FLT INTERESTED IN USING AFFECTED AIRSPACE MUST CONTACT
WITH TALAVERA APP/TWR IN ORDER TO UPDATE ACTIVATION STATUS.
TSA TALAVERA MEDIUM
LATERAL LIMITS: CIRCLE OF 08NM RADIUS CENTRED ON
385329N 0064917W.
VERTICAL LIMITS: 4000FT AMSL/FL080
DATES AND TIMES: MAR 17 HR 1930-2359
MAR 18 HR 0000-0700
RMK: EXCEPTED FLT (EMERGENCY SITUATIONS) MUST COORDINATE WITH ATC
UNIT APPROPIATE PROCEDURE, IF DEACTIVATION IS NOT FEASIBLE
BEFORE ENTERING THE AREA.
RMK: ANY FLT INTERESTED IN USING AFFECTED AIRSPACE MUST CONTACT
WITH TALAVERA APP/TWR IN ORDER TO UPDATE ACTIVATION STATUS.
TSA TALAVERA HIGH
LATERAL LIMITS: 391229N 0064931W, 390454N 0062537W,
383332N 0064905W, 384300N 0070639W,
391229N 0064931W.
VERTICAL LIMITS: 7000FT AMSL/FL140
DATES AND TIMES: MAR 17 HR 1930-2359
MAR 18 HR 0000-0700
RMK: ANY FLT INTERESTED IN USING AFFECTED AIRSPACE MUST CONTACT
WITH TALAVERA APP/TWR IN ORDER TO UPDATE ACTIVATION STATUS.
TSA TALAVERA HIGH SOUTH
LATERAL LIMITS: 384300N 0070639W, 383332N 0064905W,

384953N 0063651W, 385525N 0065926W,
384300N 0070639W.
VERTICAL LIMITS: 7000FT AMSL/FL140
DATES AND TIMES: MAR 17 HR 1930-2359
MAR 18 HR 0000-0700
RMK: ANY FLT INTERESTED IN USING AFFECTED AIRSPACE MUST CONTACT
WITH TALAVERA APP/TWR IN ORDER TO UPDATE ACTIVATION STATUS.
TSA TALAVERA HIGH NORTH
LATERAL LIMITS: 391229N 0064932W, 390454N 0062537W,
384953N 0063651W, 385525N 0065926W,
391229N 0064932W.
VERTICAL LIMITS: 7000FT AMSL/FL140
DATES AND TIMES: MAR 17 HR 1930-2359
MAR 18 HR 0000-0700
RMK: ANY FLT INTERESTED IN USING AFFECTED AIRSPACE MUST CONTACT
WITH TALAVERA APP/TWR IN ORDER TO UPDATE ACTIVATION STATUS.
TSA LAST SIX LOW
LATERAL LIMITS: CIRCLE OF 04NM RADIUS CENTRED ON
390120N 0064400W.
VERTICAL LIMITS: SFC/FL260
DATES AND TIMES: MAR 17 HR 1930-2359
MAR 18 HR 0000-0700
RMK: ANY FLT INTERESTED IN USING AFFECTED AIRSPACE MUST CONTACT
WITH TALAVERA APP/TWR IN ORDER TO UPDATE ACTIVATION STATUS.
TSA LAST SIX HIGH
LATERAL LIMITS: CIRCLE OF 04NM RADIUS CENTRED ON
390120N 0064400W.
VERTICAL LIMITS: FL250/FL350
DATES AND TIMES: MAR 17 HR 1930-2359
MAR 18 HR 0000-0700

RMK: ANY FLT INTERESTED IN USING AFFECTED AIRSPACE MUST CONTACT
WITH TALAVERA APP/TWR IN ORDER TO UPDATE ACTIVATION STATUS.

TSA SECTOR 5
LATERAL LIMITS: 381410N 0065147W, 381134N 0070505W,
382701N 0071726W, 384416N 0071216W,
384728N 0065940W, 384459N 0065521W,
384308N 0064814W, 381410N 0065147W.
VERTICAL LIMITS: FL100/FL350
DATES AND TIMES: MAR 17 HR 1930-2359
MAR 18 HR 0000-0700
RMK: ANY FLT INTERESTED IN USING AFFECTED AIRSPACE MUST CONTACT
WITH TALAVERA APP/TWR IN ORDER TO UPDATE ACTIVATION STATUS.
TSA SECTOR 5 LOW
LATERAL LIMITS: 381410N 0065147W, 381134N 0070505W,
382701N 0071726W, 384416N 0071216W,
384728N 0065940W, 384459N 0065521W,
384308N 0064814W, 381410N 0065147W.
VERTICAL LIMITS: FL100/FL150
DATES AND TIMES: MAR 17 HR 1930-2359
MAR 18 HR 0000-0700
RMK: ANY FLT INTERESTED IN USING AFFECTED AIRSPACE MUST CONTACT
WITH TALAVERA APP/TWR IN ORDER TO UPDATE ACTIVATION STATUS.
TSA SECTOR 5 HIGH
LATERAL LIMITS: 381410N 0065147W, 381134N 0070505W,
382701N 0071726W, 384416N 0071216W,
384728N 0065940W, 384459N 0065521W,
384308N 0064814W, 381410N 0065147W.
VERTICAL LIMITS: FL150/FL350
DATES AND TIMES: MAR 17 HR 1930-2359
MAR 18 HR 0000-0700
RMK: ANY FLT INTERESTED IN USING AFFECTED AIRSPACE MUST CONTACT
END PART 5 OF 13

WITH TALAVERA APP/TWR IN ORDER TO UPDATE ACTIVATION
STATUS. TSA ZAFRA EAST
LATERAL LIMITS: 383208N 0055329W, 380625N 0060155W,
375951N 0060826W, 383800N 0063728W,
383951N 0063412W, 384401N 0063002W,
383208N 0055329W.
VERTICAL LIMITS: FL260/FL350
DATES AND TIMES: MAR 17 HR 1930-2359
MAR 18 HR 0000-0700
RMK: ANY FLT INTERESTED IN USING AFFECTED AIRSPACE MUST CONTACT
WITH TALAVERA APP/TWR IN ORDER TO UPDATE ACTIVATION STATUS.
TSA ZAFRA WEST
LATERAL LIMITS: 375951N 0060826W, 374856N 0062400W,
380157N 0065306W, 383549N 0064908W,
383601N 0064437W, 383800N 0063728W,
375951N 0060826W.
VERTICAL LIMITS: FL260/FL350
DATES AND TIMES: MAR 17 HR 1930-2359
MAR 18 HR 0000-0700
RMK: ANY FLT INTERESTED IN USING AFFECTED AIRSPACE MUST CONTACT
WITH TALAVERA APP/TWR IN ORDER TO UPDATE ACTIVATION STATUS.
TSA FITA
LATERAL LIMITS: 363246N 0063706W, 363020N 0063736W,
363121N 0064944W, 363326N 0064946W,
364443N 0064943W, 365729N 0063252W,
371030N 0063723W, 371540N 0061153W,
371526N 0055503W, 364638N 0060004W,
363246N 0063706W.

VERTICAL LIMITS: FL245/FL275
DATES AND TIMES: MAR 18 HR 0000-0530
TSA PASILLO ZAFRA
LATERAL LIMITS: 383244N 0065303W, 375354N 0063241W,

380343N 0065655W, 383244N 0065303W.
VERTICAL LIMITS: FL245/FL275
DATES AND TIMES: MAR 02 09 24 25 HR 0700-1900
MAR 17 HR 1600-2359
MAR 18 HR 0000-0700
MAR 30 HR 0600-1800
RMK: ANY FLT INTERESTED IN USING AFFECTED AIRSPACE MUST CONTACT WITH TALAVERA APP/TWR IN ORDER TO UPDATE ACTIVATION STATUS.
TSA PASILLO HUELVA WHISKY
LATERAL LIMITS: 380456N 0064521W, 375913N 0063315W,
375048N 0070541W, 373231N 0071738W,
372835N 0071609W, 372806N 0071315W,
372841N 0070930W, 371546N 0070423W,
371642N 0071421W, 371950N 0071533W,
372106N 0072431W, 373321N 0072911W,
375753N 0071313W, 380456N 0064521W.
VERTICAL LIMITS: FL245/FL275
DATES AND TIMES: MAR 02 09 24 25 HR 0700-1900
MAR 17 HR 1600-2359
MAR 18 HR 0000-0700
MAR 30 HR 0600-1800
TSA PASILLO HUELVA
LATERAL LIMITS: 380535N 0064722W, 380020N 0063559W,
371840N 0070733W, 372027N 0071943W,
380535N 0064722W.
VERTICAL LIMITS: FL245/FL275
DATES AND TIMES: MAR 02 09 24 25 HR 0700-1900
MAR 17 HR 1600-2359
MAR 18 HR 0000-0700
MAR 30 HR 0600-1800
RMK: THE AREA WILL BE PLANNABLE WITH ACTIVATION/DEACTIVATION BY

TACTICAL COORDINATION WITH ECAO (OPERATIVE AIR TRAFFIC SQUADRON) SEVILLA.
TSA ANDEVALO
LATERAL LIMITS: 372343N 0071707W, 372516N 0070807W,
370053N 0065830W, 365908N 0070718W,
372343N 0071707W.
VERTICAL LIMITS: FL245/FL275
DATES AND TIMES: MAR 02 09 24 25 HR 0700-1900
MAR 17 HR 1600-2359
MAR 18 HR 0000-0700
MAR 30 HR 0600-1800
RMK: THE AREA WILL BE PLANNABLE WITH ACTIVATION/DEACTIVATION BY TACTICAL COORDINATION WITH ECAO (OPERATIVE AIR TRAFFIC SQUADRON) SEVILLA.
TSA GOLFO
LATERAL LIMITS: 365532N 0072130W, 370423N 0070923W,
370536N 0070136W, 365032N 0064303W,
363556N 0064301W, 363452N 0063303W,
355130N 0064230W, 355700N 0072130W,
365532N 0072130W.
VERTICAL LIMITS: FL245/FL275
DATES AND TIMES: MAR 02 09 24 25 HR 0700-1900
MAR 17 HR 1600-2359
MAR 18 HR 0000-0700
MAR 30 HR 0600-1800

TSA PASILLO GOLFO NORTH
LATERAL LIMITS: 370324N 0071202W, 370538N 0070010W,
362751N 0064849W, 362544N 0070058W,
370324N 0071202W.
VERTICAL LIMITS: FL245/FL275
DATES AND TIMES: MAR 02 09 24 25 HR 0700-1900
MAR 17 HR 1600-2359
MAR 18 HR 0000-0700
MAR 30 HR 0600-1800
END PART 8 OF 13

RMK: THE AREA WILL BE PLANNABLE WITH ACTIVATION/DEACTIVATION
BY TACTICAL COORDINATION WITH ECAO (OPERATIVE AIR TRAFFIC
SQUADRON) SEVILLA.
TSA PASILLO GOLFO SOUTH
LATERAL LIMITS: 363035N 0070224W, 363249N 0065021W,
355048N 0063726W, 355029N 0065044W,
363035N 0070224W.
VERTICAL LIMITS: FL245/FL275
DATES AND TIMES: MAR 02 09 24 25 HR 0700-1900
MAR 17 HR 1600-2359
MAR 18 HR 0000-0700
MAR 30 HR 0600-1800
RMK: THE AREA WILL BE PLANNABLE WITH ACTIVATION/DEACTIVATION BY
TACTICAL COORDINATION WITH ECAO (OPERATIVE AIR TRAFFIC
SQUADRON) SEVILLA.
TSA ESTRECHO 1W
LATERAL LIMITS: 355827N 0064739W, 355832N 0061514W,
355117N 0062132W, 355037N 0064945W,
355827N 0064739W.
VERTICAL LIMITS: FL245/FL275
DATES AND TIMES: MAR 02 09 24 25 HR 0700-1900
MAR 17 HR 1600-2359
MAR 18 HR 0000-0700
MAR 30 HR 0600-1800
RMK: THE AREA WILL BE PLANNABLE WITH ACTIVATION/DEACTIVATION BY
TACTICAL COORDINATION WITH ECAO (OPERATIVE AIR TRAFFIC
SQUADRON) SEVILLA.
TSA ESTRECHO 1E
LATERAL LIMITS: 355108N 0062449W, 355834N 0061829W,
355838N 0055331W, 355202N 0055256W,
355108N 0062449W.
VERTICAL LIMITS: FL245/FL275
DATES AND TIMES: MAR 02 09 24 25 HR 0700-1900

MAR 17 HR 1600-2359
MAR 18 HR 0000-0700
MAR 30 HR 0600-1800
RMK: THE AREA WILL BE PLANNABLE WITH ACTIVATION/DEACTIVATION BY
TACTICAL COORDINATION WITH ECAO (OPERATIVE AIR TRAFFIC
SQUADRON) SEVILLA.
TSA ESTRECHO 2
LATERAL LIMITS: 355211N 0055413W, 355700N 0052900W,
355551N 0050739W, 360501N 0050012W,
360457N 0052249W, 360104N 0055442W,
355211N 0055413W.
VERTICAL LIMITS: FL245/FL275
DATES AND TIMES: MAR 02 09 24 25 HR 0700-1900
MAR 17 HR 1600-2359
MAR 18 HR 0000-0700
MAR 30 HR 0600-1800
TSA ESTRECHO 3

LATERAL LIMITS: 355551N 0050937W, 355545N 0045332W,
360450N 0044817W, 360455N 0050217W,
355551N 0050937W.
VERTICAL LIMITS: FL245/FL275
DATES AND TIMES: MAR 02 09 24 25 HR 0700-1900
MAR 17 HR 1600-2359
MAR 18 HR 0000-0700
MAR 30 HR 0600-1800
RMK: THE AREA WILL BE PLANNABLE WITH ACTIVATION/DEACTIVATION BY
TACTICAL COORDINATION WITH ECAO (OPERATIVE AIR TRAFFIC
SQUADRON) SEVILLA.
TSA CORREDOR SUR 1 HIGH
LATERAL LIMITS: 355043N 0034221W, 361034N 0040128W,
361010N 0044002W, 360451N 0044340W,
360451N 0045319W, 355549N 0050024W,
355543N 0045005W, 355007N 0045348W,

355043N 0034221W.
VERTICAL LIMITS: FL245/FL275
DATES AND TIMES: MAR 02 09 24 25 HR 0700-1900
MAR 17 HR 1600-2359
MAR 18 HR 0000-0700
MAR 30 HR 0600-1800
TSA CORREDOR SUR 1 MEDIUM
LATERAL LIMITS: 355043N 0034221W, 361034N 0040128W,
361010N 0044002W, 360451N 0044340W,
360451N 0045319W, 355549N 0050024W,
355543N 0045005W, 355007N 0045348W,
355043N 0034221W.
VERTICAL LIMITS: FL175/FL265
DATES AND TIMES: MAR 02 09 24 25 HR 0700-1900
MAR 17 HR 1600-2359
MAR 18 HR 0000-0700
MAR 30 HR 0600-1800
RMK: THE AREA WILL BE PLANNABLE WITH ACTIVATION/DEACTIVATION BY
TACTICAL COORDINATION WITH ECAO (OPERATIVE AIR TRAFFIC
SQUADRON) SEVILLA.
TSA CORREDOR SUR 1 LOW
LATERAL LIMITS: 355043N 0034221W, 361034N 0040128W,
361010N 0044002W, 360451N 0044340W,
360451N 0045319W, 355549N 0050024W,
355543N 0045005W, 355007N 0045348W,
355043N 0034221W.
VERTICAL LIMITS: FL170/FL190
DATES AND TIMES: MAR 02 09 24 25 HR 0700-1900
MAR 17 HR 1600-2359
MAR 18 HR 0000-0700
MAR 30 HR 0600-1800
TSA CORREDOR SUR 2 HIGH
LATERAL LIMITS: 361038N 0040932W, 361032N 0023609W,

355042N 0025436W, 355037N 0035013W,
361038N 0040932W.
VERTICAL LIMITS: FL245/FL275
DATES AND TIMES: MAR 02 09 24 25 HR 0700-1900
MAR 17 HR 1600-2359
MAR 18 HR 0000-0700
MAR 30 HR 0600-1800
TSA CORREDOR SUR 2 LOW
LATERAL LIMITS: 361038N 0040932W, 361032N 0023609W,
355042N 0025436W, 355037N 0035013W,
361038N 0040932W.

VERTICAL LIMITS: FL170/FL190
DATES AND TIMES: MAR 02 09 24 25 HR 0700-1900
MAR 17 HR 1600-2359
MAR 18 HR 0000-0700
MAR 30 HR 0600-1800
TSA CORREDOR SUR 3 HIGH
LATERAL LIMITS: 361033N 0024402W, 361033N 0021433W,
362221N 0015804W, 355041N 0020607W,
355041N 0030223W, 361033N 0024402W.
VERTICAL LIMITS: FL245/FL275
DATES AND TIMES: MAR 02 09 24 25 HR 0700-1900
MAR 17 HR 1600-2359
MAR 18 HR 0000-0700
MAR 30 HR 0600-1800
TSA CORREDOR SUR 3 LOW
LATERAL LIMITS: 361033N 0024402W, 361033N 0021433W,
362221N 0015804W, 355041N 0020607W,
355041N 0030223W, 361033N 0024402W.
VERTICAL LIMITS: FL170/FL190
DATES AND TIMES: MAR 02 09 24 25 HR 0700-1900
MAR 17 HR 1600-2359
MAR 18 HR 0000-0700
MAR 30 HR 0600-1800

TSA CORREDOR SUR 4
LATERAL LIMITS: 361658N 0020533W, 363151N 0014434W,
365059N 0005929W, 363323N 0004752W,
361447N 0013118W, 355041N 0020607W,
355039N 0021206W, 361658N 0020533W.
VERTICAL LIMITS: FL170/FL190
DATES AND TIMES: MAR 09 24 HR 0700-1900
TSA CORREDOR SUR 5
LATERAL LIMITS: 364753N 0010415W, 371952N 0001143E,
365804N 0001142E, 363059N 0005316W,
364753N 0010415W.
VERTICAL LIMITS: FL170/FL190
DATES AND TIMES: MAR 09 24 HR 0700-1900
TSA CORREDOR SUR 6
LATERAL LIMITS: 371829N 0000614E, 380228N 0015703E,
374402N 0020706E, 365553N 0000607E,
371829N 0000614E.
VERTICAL LIMITS: FL170/FL190
DATES AND TIMES: MAR 09 24 HR 0700-1900
TSA CORREDOR SUR 7
LATERAL LIMITS: 375951N 0015034E, 374128N 0020041E,
382035N 0034354E, 382256N 0034709E,
383750N 0032956E, 375951N 0015034E.
VERTICAL LIMITS: FL170/FL190
DATES AND TIMES: MAR 09 24 HR 0700-1900
TSA CORREDOR SUR 8
LATERAL LIMITS: 381916N 0034003E, 383417N 0032411E,
392941N 0043931E, 390036N 0043931E,
382034N 0034352E, 381916N 0034003E.
VERTICAL LIMITS: FL170/FL190
DATES AND TIMES: MAR 09 24 HR 0700-1900
F) SFC G) FL350

D0879/26
SR-SS
TEMPO RESTRICTED AREA **ACTIVATED** FOR UAS WI COORD
383717N 0034507W 383751N 0034616W 383936N 0034647W
383939N 0034740W 384009N 0034739W 384215N 0034618W
384214N 0034610W 384212N 0034455W 384045N 0033854W
383812N 0033746W 383717N 0034507W.
CALZADA DE CALATRAVA, CIUDAD REAL.
RMK:CORDINATION PHONE NUMBER:+34 948 572 230/+34 680 836 208
CORDINATION MAIL: COORDINACIONES(AT)FUVEX.COM
F) SFC G) 00100M AGL

D0818/26
SR-SS
TEMPO SEGREGATED AREA **ACTIVATED** FOR UNMANNED ACFT FLYING
WI COORD: 391638N 0030833W - 390748N 0030805W -
390718N 0032501W - 391547N 0032432W - 391638N 0030833W
ALCAZAR DE SAN JUAN, CIUDAD REAL
RMK:
CORDINATION PHONE NUMBER: +34 636 440 147 / +34 669 408 833
CORDINATION MAIL: COORDINACIONES(AT)FUVEX.COM
F) SFC G) 00100M AGL

D0819/26
SR-SS
TEMPO SEGREGATED AREA **ACTIVATED** FOR UNMANNED ACFT FLYING WI
COORD
383807N 0030452W
383752N 0025648W
383144N 0025414W
383121N 0025427W
383208N 0030012W
383033N 0031027W
383249N 0031222W
383708N 0030759W
383807N 0030452W
VILLAMANRIQUE - CIUDAD REAL
RMK:
CORDINATION PHONE NUMBER: +34 636 440 147 / +34 669 408 833
CORDINATION MAIL: COORDINACIONES(AT)FUVEX.COM
F) SFC G) 00100M AGL

D0866/26
SR-SS
TEMPO SEGREGATED AREA **ACTIVATED** FOR UNMANNED ACFT FLYING
WI COORD: 384347N 0040533W - 384406N 0035519W -
384604N 0035135W - 384601N 0035118W - 384338N 0034659W -
384219N 0034659W - 384234N 0040327W - 384029N 0040326W -
384043N 0040524W - 384347N 0040533W
ALDEA DEL REY, CIUDAD REAL
RMK:
COORDINATION PHONE NUMBER: +34 636 440 147 / +34 669 408 833
CORDINATION MAIL: COORDINACIONES(AT)FUVEX.COM
F) SFC G) 00100M AGL

D0883/26
SR-SS
TEMPO SEGREGADA AREA **ACTIVATED** FOR UNMANNED ACFT FLYING WI
COORD WI COORD 384553N 0031541W - 385004N 0031432W -
385014N 0031236W - 384759N 0031201W - 384617N 0030233W -
385423N 0030125W - 385410N 0025803W - 384519N 0025356W -
384430N 0025357W - 384355N 0025912W - 383841N 0025830W -
383807N 0030434W - 383839N 0031011W - 384443N 0031532W -
384553N 0031541W
VILLANUEVA DE LOS INFANTES, CIUDAD REAL
RMK:
COORDINATION PHONE NUMBER: +34 948 572 230 / +34 680 836 208
COORDINATION MAIL: COORDINACIONES(AT)FUVEX.COM
F) SFC G) 00100M AGL

D0885/26
SR-SS
TEMPO SEGREGATED AREA **ACTIVATED** FOR UNMANNED ACFT FLYING
WI COORD 390148N 0033930W - 390217N 0033933W -
390450N 0033751W - 390713N 0032501W - 390734N 0031518W -
390053N 0030735W - 385151N 0030944W - 385129N 0031822W -
384948N 0032335W - 384945N 0032436W - 385938N 0032557W -
390148N 0033930W
MANZANARES, CIUDAD REAL.
RMK:
COORDINATION PHONE NUMBER: +34 948 572 230 / +34 680 836 208
COORDINATION MAIL: COORDINACIONES(AT)FUVEX.COM
F) SFC G) 00100M AGL

D0579/26
02-06 09-13 16-20 23-27 30-31 SR-SS
TEMPORARY SEGREGATED AREA FOR UNMANNED AIRCRAFT VEHICLE
FLYING **ACTIVATED** WI 403935N 0030600W, 403929N 0030541W,
403954N 0030514W, 403952N 0030508W, 403924N 0030522W,
403914N 0030520W, 403907N 0030553W, 403843N 0030546W,
403857N 0030519W, 403925N 0030504W, 404013N 0030436W,
404111N 0030408W, 404213N 0030325W, 404230N 0030306W,
404247N 0030248W, 404307N 0030301W, 404246N 0030342W,
404127N 0030439W, 404016N 0030526W, 403935N 0030600W
GUADALAJARA/ZONE 1
F) SFC G) 01170M AMSL

D0578/26
02-06 09-13 16-20 23-27 30-31 SR-SS
TEMPORARY SEGREGATED AREA FOR UNMANNED AIRCRAFT VEHICLE
FLYING **ACTIVATED** WI 403646N 0030628W, 403703N 0030618W,
403716N 0030622W, 403833N 0030521W, 403820N 0030551W,
403734N 0030637W, 403739N 0030720W, 403700N 0030656W,
403642N 0030654W, 403643N 0030652W, 403646N 0030628W
GUADALAJARA/ZONE 2
F) SFC G) 01170M AMSL

D0580/26
02-06 09-13 16-20 23-27 30-31 SR-SS
TEMPORARY SEGREGATED AREA FOR UNMANNED AIRCRAFT VEHICLE
FLYING **ACTIVATED** WI 403613N 0030710W, 403635N 0030642W,
403638N 0030648W, 403640N 0030652W, 403641N 0030654W,
403650N 0030655W, 403629N 0030815W, 403628N 0030837W,
403614N 0030832W, 403559N 0030822W, 403541N 0030831W,
403527N 0030843W, 403517N 0030901W, 403506N 0030845W,
403501N 0030838W, 403513N 0030825W, 403613N 0030710W
GUADALAJARA/ZONE 3
F) SFC G) 01170M AMSL

D0455/26
02-05 09-12 16-19 23-26 0600-1300 1500-2200, 06 13 20 27 ,
0600-1200, 30-31 0500-1200 1400-2100
TEMPORARY SEGREGATED AREA FOR UNMANNED AIRCRAFT
VEHICLE FLYING **ACTIVATED** WI 420453N 0082535W,
420626N 0081929W, 420846N 0081448W, 420829N 0081325W,
421037N 0081046W, 421225N 0081217W, 421402N 0081107W,
421700N 0081002W, 421659N 0081112W, 421236N 0081628W,
421149N 0082706W, 420709N 0082842W, 420453N 0082535W
GALICIA/AZOR B
RMK: THE ACTIVATION/DEACTIVATION OF THIS AREA WILL BE CARRIED OUT
IN REAL TIME BY TACTICAL COORDINATION WITH ECAO (OPERATIVE
AIR TRAFFIC SQUADRON) MADRID AND SANTIAGO TACC.
F) SFC G) 00400FT AGL

D0851/26
02-05 09-12 16-19 23-26 0600-1300 1500-2200, 06 13 20 27 ,
0600-1200, 30-31 0500-1200 1400-2100
TEMPORARY SEGREGATED AREA FOR UNMANNED AIRCRAFT VEHICLE FLYING
ACTIVATED WI 422432N 0083918W, 422246N 0083827W, 422154N 0084015W,
422326N 0084049W, 422432N 0084013W, 422432N 0083918W
PONTEVEDRA/FIGUEIRIDO
F) SFC G) 00400FT AGL

D0541/26
SR-SS
TEMPO SEGREGATED AREA LETS30 **ACTIVATED**.
VILLACARRILLO, JAEN.
RMK:
COORDINATION PHONE NUMBER: +34 662 356 102
F) SFC G) 05000FT AMSL

D0909/26
01 03-31 SR-SS, 02 SR-1800
GLIDER, PARAGLINDING OR HANG GLIFER FLYING WILL TAKE PLACE
WI COORD: 422342N 0004433W 421655N 0000434W 420938N 0000458W
421850N 0004506W 422342N 0004433W
HUESCA/ARAGON
F) SFC G) 05740FT AMSL

D0730/26
SR-SS
TEMPO SEGREGATED AREA **ACTIVATED** WI COORD
415310N 0061033W
415336N 0061249W
415556N 0061428W
415729N 0061457W
420024N 0061811W
420153N 0061620W
420118N 0060908W
415926N 0060906W
415635N 0060748W
415529N 0060819W
415528N 0060819W
415310N 0061033W
FERRERAS DE ARRIBA, ZAMORA
RMK:
CORDINATION PHONE NUMBER: +34 948 572 230 / +34 680 836 208
CORDINATION MAIL: COORDINACIONES(AT)FUVEX.COM
F) SFC G) 00100M AGL

D0766/26
SR-SS
TEMPO SEGREGATED AREA **ACTIVATED** WI COORD
423806N 0062911W - 423805N 0062913W - 423428N 0062829W -
423217N 0062536W - 423110N 0062733W - 423402N 0063347W -
423754N 0063223W - 423806N 0062911W
CONGOSTO, LEON
RMK:
CORDINATION PHONE NUMBER: +34 636 440 147 / +34 669 408 833
CORDINATION MAIL: COORDINACIONES(AT)FUVEX.COM
F) SFC G) 00100M AGL

D0728/26
SR-SS
TEMPO SEGREGATED AREA **ACTIVATED** WI COORD
415647N 0061915W
415711N 0061905W
415704N 0061646W
415646N 0061556W
415647N 0061424W
415616N 0061422W
415604N 0061543W
415612N 0061718W
415630N 0061755W
415647N 0061915W
VILLARDECIERVOS, ZAMORA
RMK:
CORDINATION PHONE NUMBER: +34 948 572 230 / +34 680 836 208
CORDINATION MAIL: COORDINACIONES(AT)FUVEX.COM
F) SFC G) 00100M AGL

D0732/26
SR-SS
TEMPO SEGREGATED AREA **ACTIVATED** WI COORD
415509N 0063232W
415556N 0063226W
415631N 0063248W
420119N 0063029W
420332N 0062704W
415806N 0061938W
415704N 0061859W
415633N 0061912W
415639N 0062127W
415457N 0062925W
415456N 0062925W
415509N 0063232W
MANZANAL DE ARRIBA, ZAMORA
RMK:
CORDINATION PHONE NUMBER: +34 948 572 230 / +34 680 836 208
CORDINATION MAIL: COORDINACIONES(AT)FUVEX.COM
F) SFC G) 00100M AGL

D0778/26
SR-SS
TEMPO SEGREGATED AREA **ACTIVATED** WI COORD
420916N 0063611W - 420915N 0063611W - 420743N 0063615W -
420554N 0063511W - 420536N 0063502W - 415850N 0064529W -
415924N 0064605W - 415924N 0064817W - 415704N 0064907W -
415641N 0065349W - 420159N 0070142W - 420435N 0065949W -
420657N 0064738W - 421105N 0063926W - 420916N 0063611W
LUBIAN, ZAMORA
RMK:
CORDINATION PHONE NUMBER: +34 636 440 147 / +34 669 408 833
CORDINATION MAIL: COORDINACIONES(AT)FUVEX.COM
F) SFC G) 00100M AGL

D0725/26
SR-SS
TEMPO SEGREGATED AREA **ACTIVATED** WI COORD
412149N 0040240W
412523N 0040447W
412549N 0040300W
412908N 0035930W
412900N 0035739W
412017N 0035232W
411949N 0035304W
411950N 0035708W
412223N 0035808W
412149N 0040240W
FUENTE EL OLMO DE FUENTIDUENA - SEGOVIA
RMK
CORDINATION PHONE NUMBER: +34 948 572 230 / +34 680 836 208
CORDINATION MAIL: COORDINACIONES(AT)FUVEX.COM
F) SFC G) 00100M AGL

D0734/26
SR-SS
TEMPO SEGREGATED AREA **ACTIVATED** WI COORD
411546N 0032934W
411555N 0033017W
411641N 0033028W
411930N 0033345W
412002N 0033345W
412128N 0033101W
412219N 0033050W
412232N 0033002W
412227N 0032841W
412154N 0032723W
412200N 0032625W
412220N 0032603W
412252N 0032355W
412313N 0032103W
412142N 0031809W
411743N 0032601W
411546N 0032934W
RIAZA - SEGOVIA
RMK
CORDINATION PHONE NUMBER: +34 948 572 230 / +34 680 836 208
CORDINATION MAIL: COORDINACIONES(AT)FUVEX.COM
F) SFC G) 00100M AGL

D0726/26
SR-SS
TEMPO SEGREGATED AREA **ACTIVATED** WI COORD
404433N 0041723W
404536N 0041523W
404554N 0041115W
404308N 0041113W
404229N 0041142W
404242N 0041420W
404254N 0041513W
404433N 0041723W
ESPINAR - SEGOVIA
RMK
CORDINATION PHONE NUMBER: +34 948 572 230 / +34 680 836 208
CORDINATION MAIL: COORDINACIONES(AT)FUVEX.COM
F) SFC G) 00100M AGL

D0764/26
SR-SS
TEMPO SEGREGATED AREA **ACTIVATED** WI COORD
383446N 0041425W
384019N 0041150W
384116N 0040838W
384022N 0040426W
384027N 0040014W
383738N 0035316W
382239N 0035343W
382256N 0040027W
383446N 0041425W
PUERTOLLANO - CIUDAD REAL
RMK
CORDINATION PHONE NUMBER: +34 680 836 208/ +34 669 408 833
CORDINATION MAIL: COORDINACIONES(AT)FUVEX.COM
F) SFC G) 00100M AGL

D0784/26
TEMPO SEGREGATED AREA **ACTIVATED** FOR UNMANNED ACFT FLYING
WI COORD 385525N 0041004W - 385523N 0040623W - 385519N 0040535W -
385438N 0040547W - 385237N 0040622W - 385148N 0040635W -
385209N 0040720W - 385326N 0040959W - 385525N 0041004W
CORRAL DE CALATRAVA, CIUDAD REAL
RMK:
CORDINATION PHONE NUMBER: +34 636 440 147 / +34 669 408 833
CORDINATION MAIL: COORDINACIONES(AT)FUVEX.COM
F) SFC G) 00100M AGL

D0792/26
SR-SS
TEMPO SEGREGATED AREA **ACTIVATED** FOR UNMANNED ACFT FLYING WI
COORD WI 405241N 0024317W - 405242N 0024318W -
405057N 0024048W - 404957N 0023857W - 404735N 0023635W -
404619N 0023800W - 404726N 0024214W - 404710N 0024304W -
404711N 0024629W - 404619N 0024829W - 404410N 0025113W -
404543N 0025328W - 405247N 0024552W - 405241N 0024317W
VALDERREBOLLO, GUADALAJARA
RMK:
CORDINATION PHONE NUMBER: +34 636 440 147 / +34 669 408 833
CORDINATION MAIL: COORDINACIONES(AT)FUVEX.COM
F) SFC G) 00100M AGL

D0845/26
SR-SS
TEMPO SEGREGATED AREA **ACTIVATED** FOR UNMANNED ACFT FLYING
WI COORD:
390408N 0040230W - 390459N 0035418W - 390020N 0035104W -
385943N 0035131W - 385909N 0035148W - 385844N 0035157W -
385801N 0035210W - 385727N 0035213W - 385640N 0035212W -
385513N 0035617W - 385628N 0040324W - 390408N 0040230W
CIUDAD REAL
RMK:
CORDINATION PHONE NUMBER: +34 680 836 208/ +34 669 408 833
CORDINATION MAIL: COORDINACIONES(AT)FUVEX.COM
F) SFC G) 00100M AGL

D0801/26
SR-SS
TEMPO SEGREGATED AREA **ACTIVATED** FOR UNMANNED ACFT FLYING
WI COORD WI COORD 385704N 0043425W - 385551N 0041005W -
384209N 0040939W - 384412N 0041413W - 384516N 0041406W -
384715N 0042135W - 384449N 0042515W - 385322N 0043422W -
385704N 0043425W
CABEZARADOS, CIUDAD REAL
RMK:
CORDINATION PHONE NUMBER: +34 680 836 208/ +34 669 408 833
CORDINATION MAIL: COORDINACIONES(AT)FUVEX.COM
F) SFC G) 00100M AGL

D0688/26
FEB 20-22 SR-SS, FEB 23 SR-1200, FEB 24-27 SR-1800, MAR 02-04 ,
SR-1800, MAR 05-31 SR-SS
TEMPO SEGREGATED AREA **ACTIVATED** FOR UNMANNED ACFT FLYING WI
COORD WI 420545N 0013502W - 420715N 0013402W - 420707N 0013234W -
420717N 0013204W - 420649N 0013111W - 420536N 0013050W -
420438N 0013320W - 420545N 0013502W
TUDELA, NAVARRA
RMK:
CORDINATION PHONE NUMBER: +34 636 440 147 / +34 669 408 833
CORDINATION MAIL: COORDINACIONES(AT)FUVEX.COM
F) SFC G) 00100M AGL

D0531/26
TEMPO RESTRICTED AREA **ACTIVATED** FOR UAS WI COORD
402508N 0031757W - 402556N 0031755W - 402526N 0025622W -
402103N 0030143W - 401939N 0030603W - 402046N 0031245W -
402230N 0031428W - 402246N 0031916W - 402516N 0031849W -
402510N 0031823W - 402508N 0031757W.
VILLALBILLA, MADRID.
RMK:PHONE NUMBER: +34 661 810 529
F) 00120M AGL G) 00400M AGL

D0604/26
SR-SS
TEMPORARY SEGREGATED AREA FOR UNMANNED ACFT VEHICLE FLYING
ACTIVATED WI COORD 423016N 0064937W - 423006N 0062352W -
421634N 0062400W - 421645N 0064055W - 422311N 0064933W -
423016N 0064937W
PRIARANZA DEL BIERZO, LEON
F) SFC G) 00100M AGL

D0167/26
FEB 07-08 14-15 21-22 28 0600-2359, MAR 01 07-08 14-15 21-22 ,
0600-2359
LETS34 **ACTIVATED** FOR REAL FIRING.
UPPER VERTICAL LIMIT MODIFIED
RMK: THE ACTIVATION/DEACTIVATION OF THIS AREA WILL BE CARRIED OUT
IN REAL TIME BY TACTICAL COORDINATION WITH ECAO (OPERATIVE
AIR TRAFFIC SQUADRON) SEVILLA.
F) SFC G) 08000FT AMSL

D0407/26
0700-1900
TEMPO SEGREGADA AREA **ACTIVATED** WI COORD 431426N 0072823W -
431418N
0072735W - 431347N 0072731W - 431335N 0072746W - 431257N 0072741W
- 431257N 0072805W - 431337N 0072859W - 431426N 0072823W
COSPEITO - LUGO
F) SFC G) 00120M AGL

D5293/25
JAN 07-09 12-16 19-23 26-30 SR-SS, FEB 02-06 09-13 16-20 23-27 ,
SR-SS, MAR 02-06 09-13 16-20 23-27 SR-SS
TSA **ACTIVATED** FOR UAS WI COORD 420729N 0084942W
420738N 0085141W 420705N 0085408W 420532N 0085429W
420457N 0092253W 420953N 0092253W 420933N 0085454W
420833N 0085346W 420846N 0085003W 420729N 0084942W
PONTEVEDRA, BAIONA
F) SFC G) 00120M AGL

D0007/26
JAN 07-09 12-16 19-23 26-30 SR-SS, FEB 02-06 09-13 16-20 23-27 ,
SR-SS, MAR 02-06 09-13 16-20 23-27 SR-SS
TSA **ACTIVATED** FOR UAS WI COORD 420207N 0085327W
420207N 0085326W 415601N 0085330W 415427N 0085258W
415235N 0085311W 415558N 0092234W 420221N 0092230W
420207N 0085327W.
OIA, PONTEVEDRA.
RMK:
CORDINATION PHONE NUMBER: +34 600 338 043 / +34 674 384 394
CORDINATION MAIL: INFODRONES(AT)MARINEINSTRUMENTS.ES
F) SFC G) 00120M AGL

D4282/25
JAN 05 07-08 12-15 19-22 26-29 1700-2100, FEB 02-05 09-12 16-19 ,
23-26 1700-2100, MAR 02-05 09-12 16-19 23-26 1700-2100
LER71A **ACTIVATED** FOR AIR OPERATIONS
RMK: THE ACTIVATION/DEACTIVATION OF THIS AREA WILL BE CARRIED OUT
IN REAL TIME BY TACTICAL COORDINATION WITH ECAO (OPERATIVE
AIR TRAFFIC SQUADRON) MADRID.
F) 01000FT AGL G) FL100

D4284/25
JAN 05 07-08 12-15 19-22 26-29 1700-2100, FEB 02-05 09-12 16-19 ,
23-26 1700-2100, MAR 02-05 09-12 16-19 23-26 1700-2100
LER71B **ACTIVATED** FOR AIR OPERATIONS.
UPPER VERTICAL LIMIT MODIFIED
RMK: THE ACTIVATION/DEACTIVATION OF THIS AREA WILL BE CARRIED OUT
IN REAL TIME BY TACTICAL COORDINATION WITH ECAO (OPERATIVE
AIR TRAFFIC SQUADRON) MADRID.
F) 01000FT AGL G) FL100

D5349/25
JAN 02-04 09-11 16-18 23-25 30-31 SR-SS, FEB 01 06-08 13-15 20-22
, 27-28 SR-SS, MAR 01 06-08 13-15 20-22 27-29 SR-SS
PJE WILL TAKE PLACE 5000M RADIUS
CENTERED AT COORD 425901N 0090018W
MAZARICOS - A CORUNA
RMK
HIGHER ALTITUDES **AVAILABLE** SUBJECT TO REAL-TIME COORDINATION WITH
LECG
F) SFC G) 09000FT AMSL

LPPC LISBON FIR

Please see section EXTENDED AREA AROUND DESTINATION

[Company NOTAM]

==========

CREW ALERT

==========

SB007/14

SUBJECT: AUTO COST INDEXES
WHEN PLANNING A COST INDEX, 2 OPTIONS ARE AVAILABLE. PILOTS MAY EITHER SELECT A SPECIFIC COST INDEX NUMBER FROM THE LIST, OR THEY MAY SELECT "AUTO". WHEN PLANNING AN "AUTO" COST INDEX, THE SYSTEM WILL REFERENCE THE SCHEDULED "TIME ENROUTE" OPTION AND ATTEMPT TO CHOOSE A COST INDEX WHICH CLOSELY MATCHES THIS VALUE. NOTE THAT THE "TIME ENROUTE" OPTION IS MEANT AS A GATE TO GATE TIME (AS INDICATED ON AN AIRLINE'S FLIGHT SCHEDULE, FOR EXAMPLE). IF A "TIME ENROUTE" OF 2:30 IS SELECTED, THE SYSTEM WILL SUBTRACT THE TAXI TIMES FROM THIS VALUE TO DETERMINE THE SCHEDULED AIR TIME. IT WILL THEN DETERMINE AND USE THE COST INDEX WHICH MATCHES THIS AIR TIME.

SB003/13

SUBJECT: FLIGHT RELEASE UNITS
ALL FLIGHT CREW: PLEASE PAY SPECIAL ATTENTION TO THE UNITS SELECTION WHEN GENERATING A FLIGHT PLAN. FAILURE TO IDENTIFY THE CORRECT UNITS WHEN REFUELING PRIOR TO FLIGHT CAN RESULT IN DEPARTING WITH INSUFFICIENT FUEL AND/OR AN ERRONEOUS PAYLOAD.

==========

CREW BULLETIN

==========

NIL

========== END OF LIDO-NOTAM-BULLETIN ==========

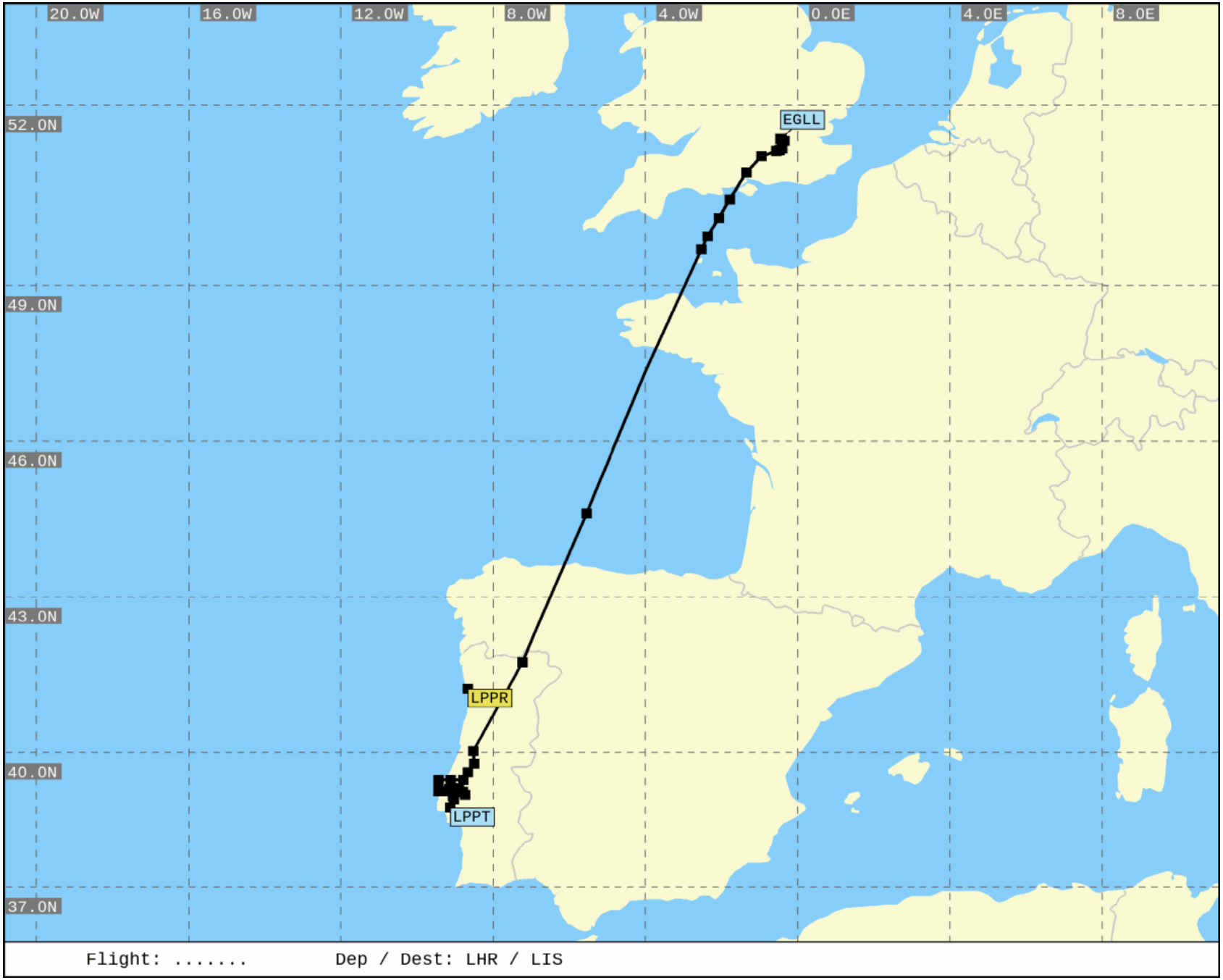
20.0W
16.0W
12.0W
8.0W
4.0W
0.0E
4.0E
8.0E
52.0N
49.0N
46.0N
43.0N
40.0N
37.0N
EGLL
LPPR
LPPT
Flight: .....
Dep / Dest: LHR / LIS

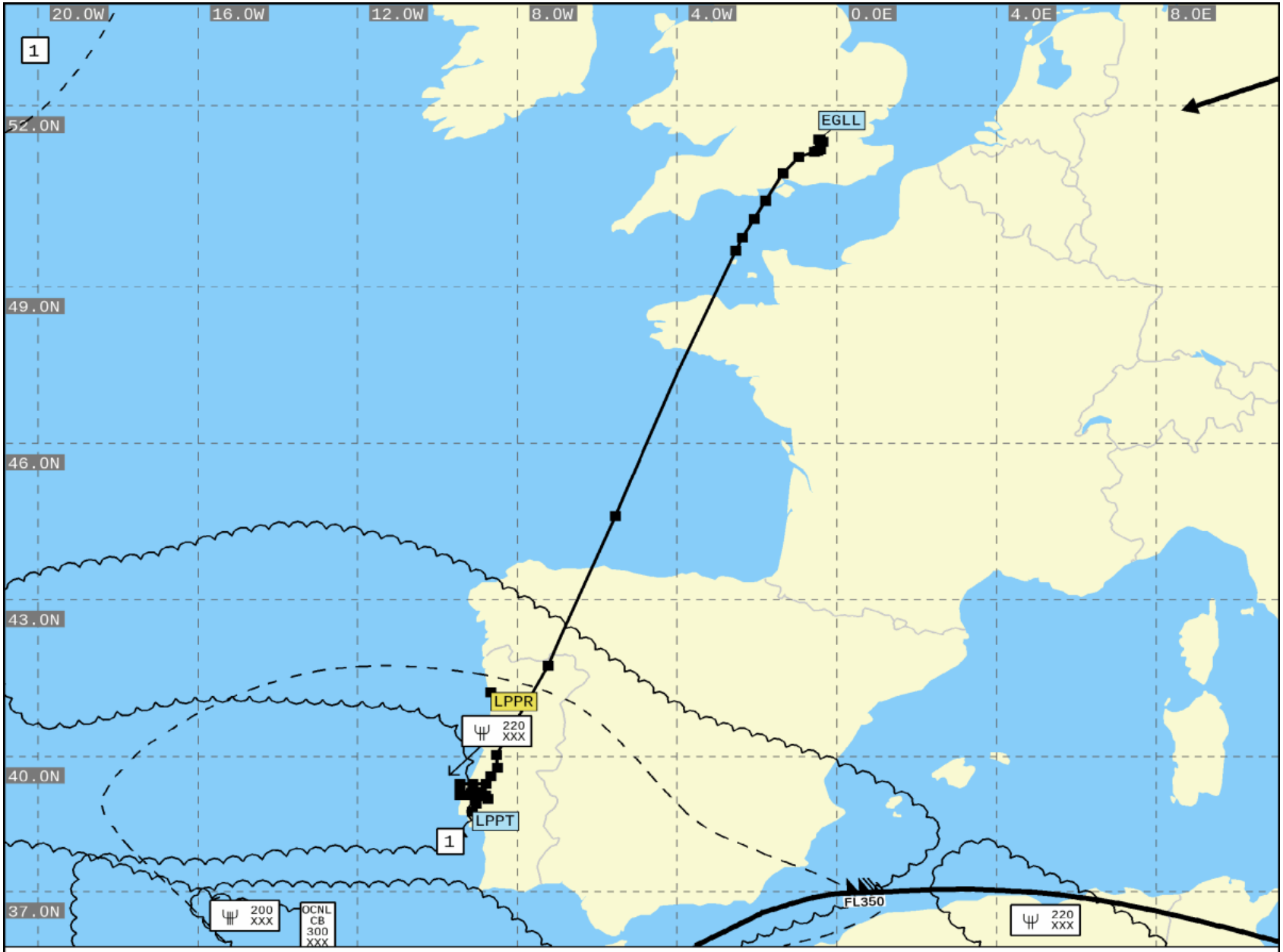

SIG WX FL 100-450 WASHINGTON 1 400
VALID 12 UTC ON 20.Mar.2026 160

Flight: ..... Dep / Dest: LHR / LIS

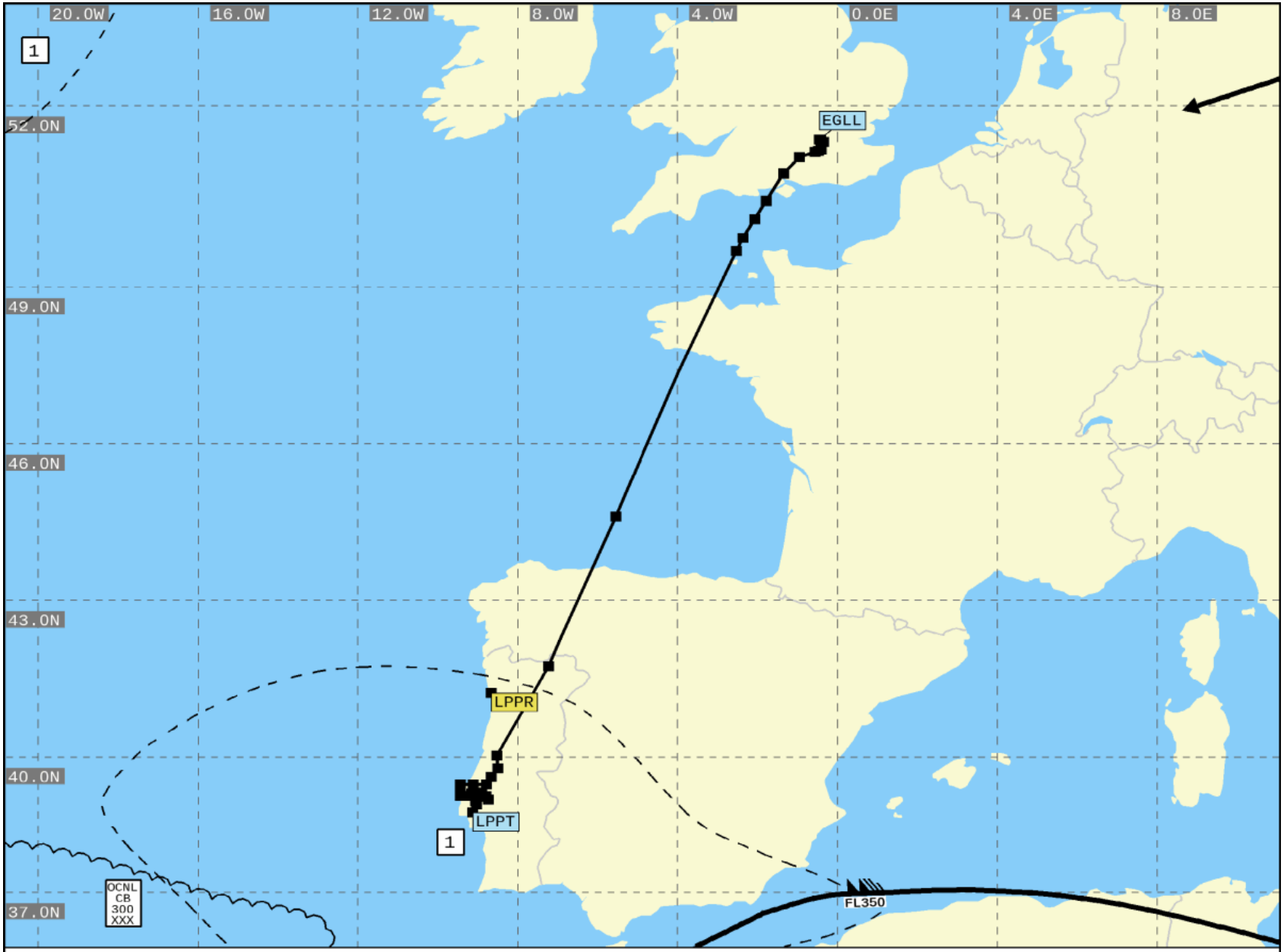

SIG WX FL 250-630 WASHINGTON
VALID 12 UTC ON 20.Mar.2026

1 400 XXX

Flight: ..... Dep / Dest: LHR / LIS

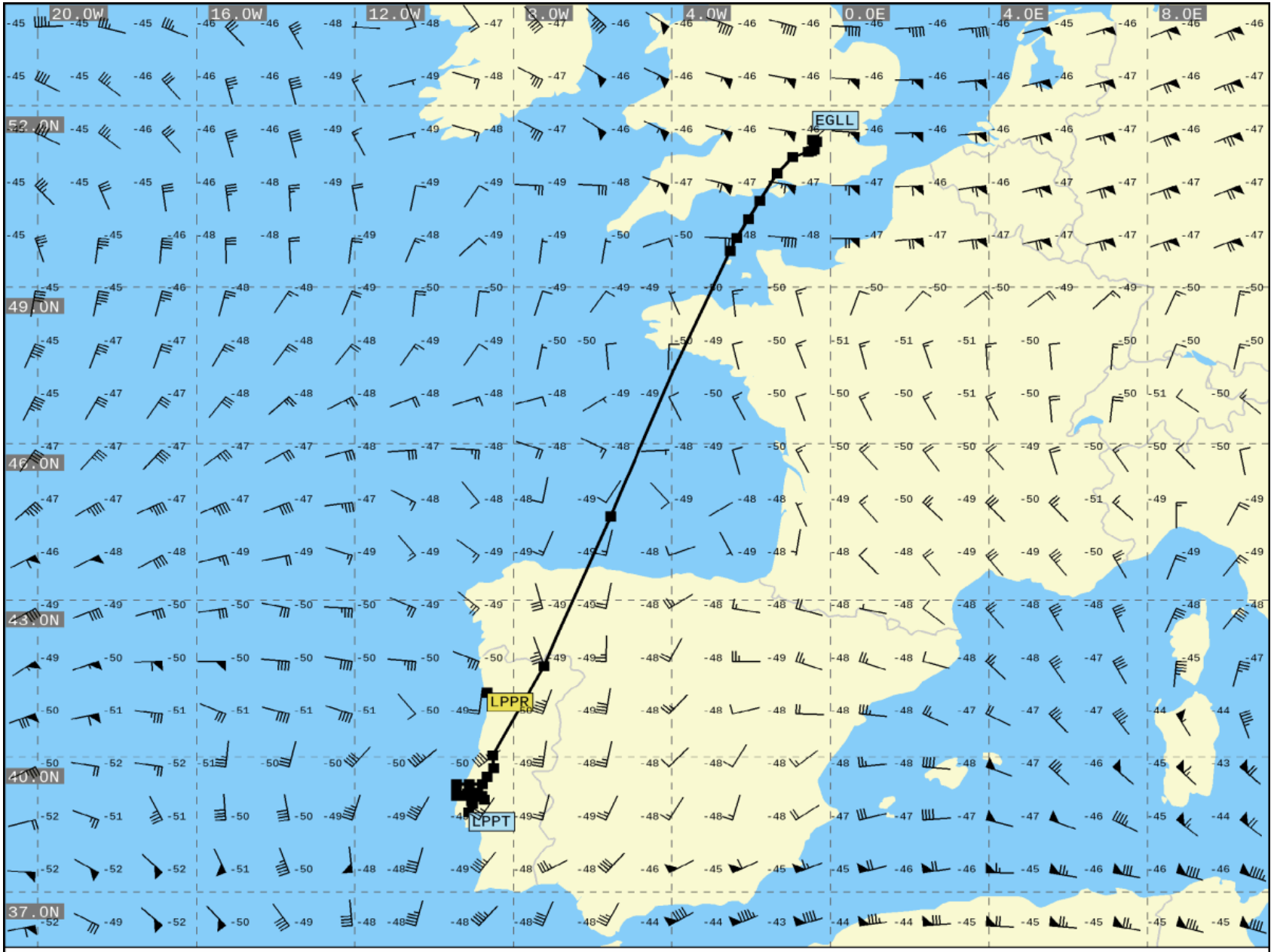

UAD VALID 12 UTC ON 20.Mar.2026 06h FL 300

Flight: ..... Dep / Dest: LHR / LIS

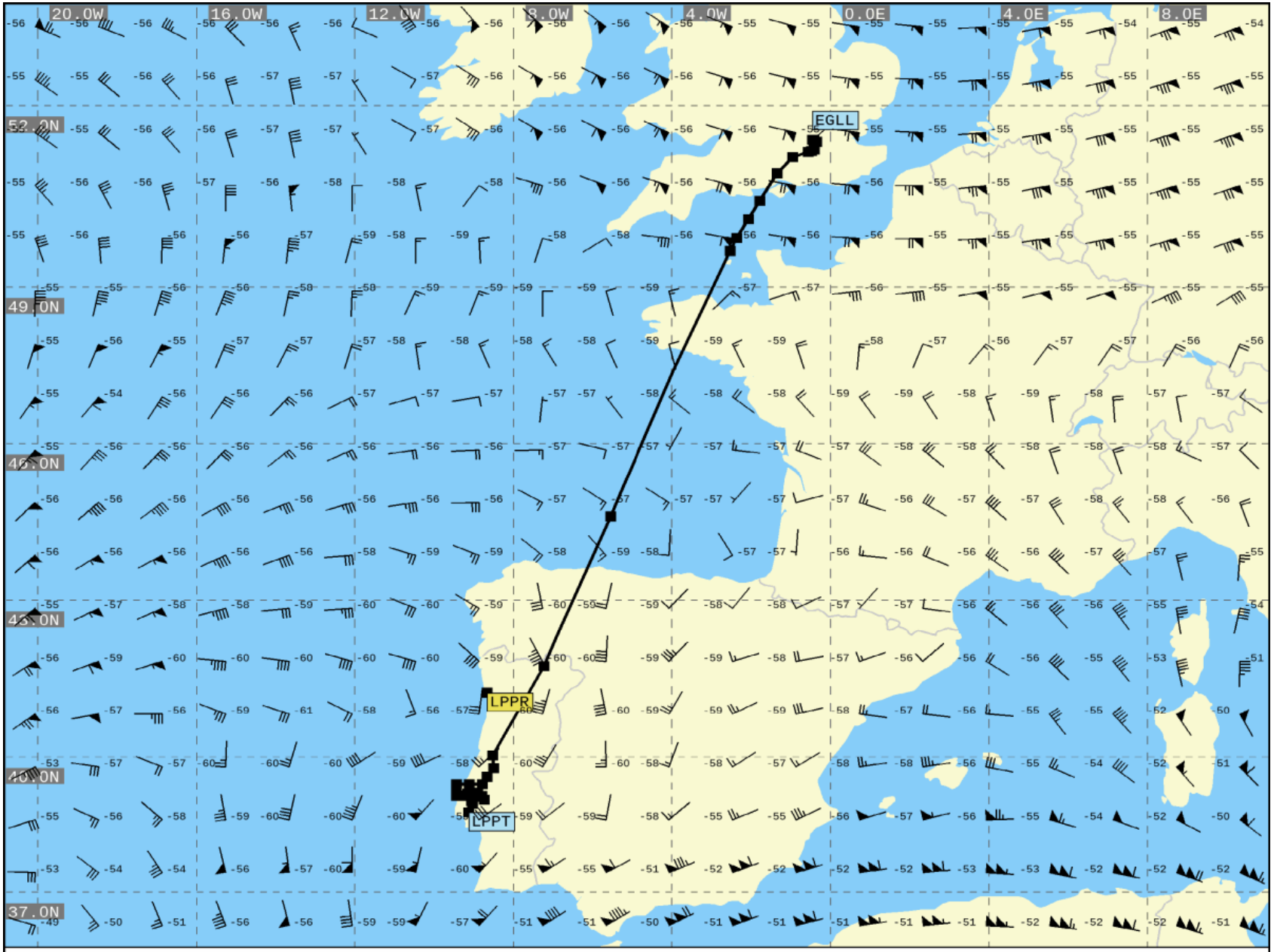

UAD VALID 12 UTC ON 20.Mar.2026 06h FL 340

Flight: ..... Dep / Dest: LHR / LIS

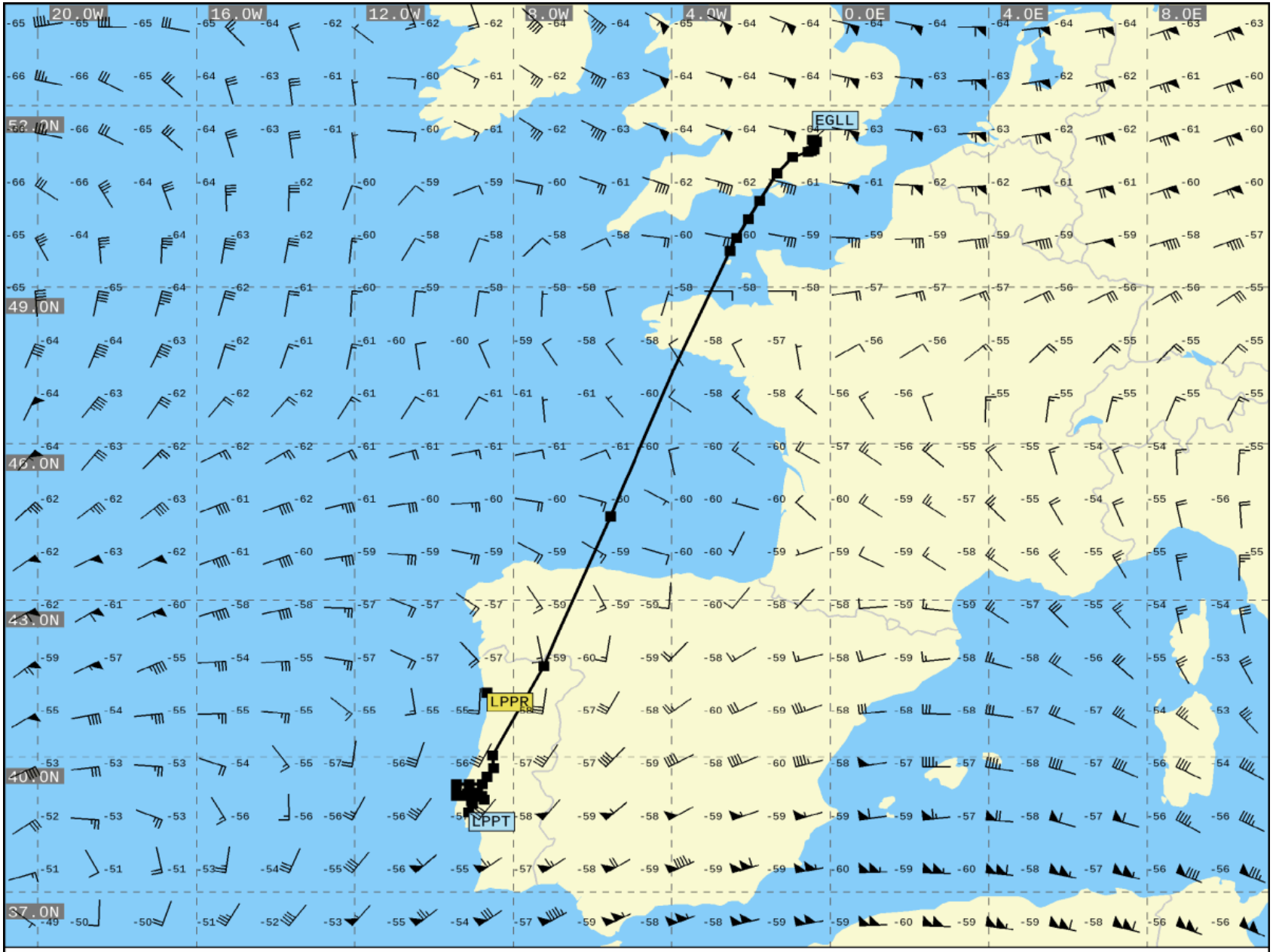

UAD VALID 12 UTC ON 20.Mar.2026 06h FL 390

Flight: ..... Dep / Dest: LHR / LIS

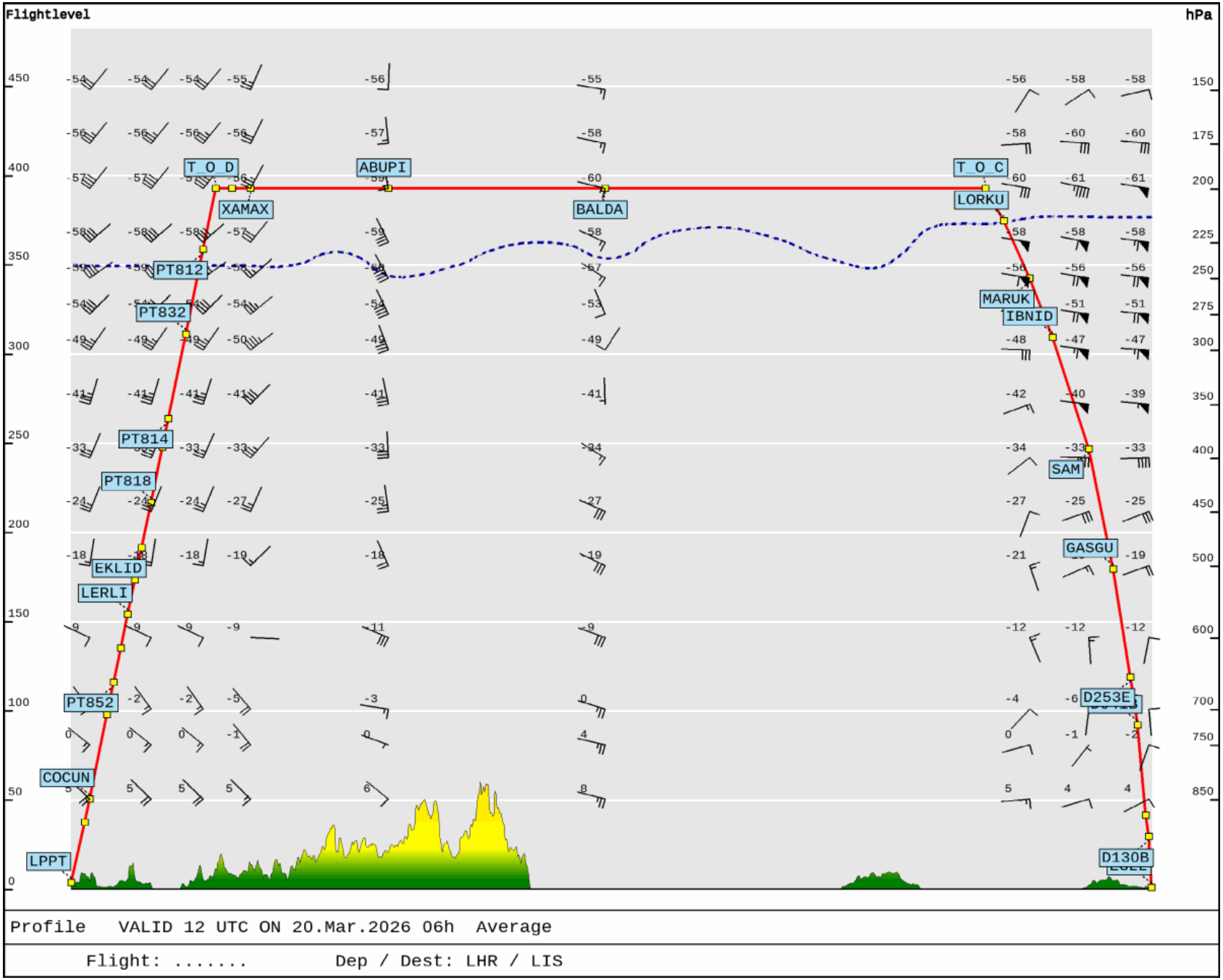
Flightlevel
hPa
T_O_D
ABUPI
T_O_C
XAMAX
BALDA
LORKU
PT812
PT832
MARUK
IBNID
PT814
PT818
SAM
GASGU
EKLID
LERLI
PT852
D253E
COCUN
LPPT
D130B
Profile VALID 12 UTC ON 20.Mar.2026 06h Average
Flight: ..... Dep / Dest: LHR / LIS

End of Document: Total Number of Pages: 114