[OFP]

```
---------------------------------------------------------------------
FIN1011   30MAR2026    EHAM-ELLX   A333 N339SB  RELEASE 1828 30MAR26
OFP 1              SCHIPHOL-LUXEMBOURG
                                   WX PROG 3015 3018   OBS 3012 3012

  ATC C/S   FIN1011      EHAM/AMS   ELLX/LUX      CRZ SYS      CI 15
30MAR2026   N339SB       1555/1615  1652/1700     GND DIST       219
A330-300 / TRENT 772                STA  1705     AIR DIST       162
                         CTOT:....                G/C DIST       170
                                                  AVG WIND   344/095
MAXIMUM    TOW 233000  LAW 187000  ZFW 175000     AVG W/C       P091
ESTIMATED  TOW 160397  LAW 156955  ZFW 150254     AVG ISA       M002
                                                  AVG FF KGS/HR 5512
                                                  FUEL BIAS    P00.0
ALTN LFPG                                         TKOF ALTN  .......
FL STEPS EHAM/0230/
---------------------------------------------------------------------
DISP RMKS   NIL

---------------------------------------------------------------------
         PLANNED FUEL
---------------------------------
FUEL           ARPT   FUEL   TIME
---------------------------------
TRIP            LUX   3442   0037
CONT 15 MIN           1378   0015
ALTN            CDG   3245   0037
FINRES                2078   0030
---------------------------------
MINIMUM T/OFF FUEL   10143   0200
---------------------------------
EXTRA                    0   0000
---------------------------------
T/OFF FUEL           10143   0200
TAXI            AMS    544   0020
---------------------------------
BLOCK FUEL      AMS  10687
PIC EXTRA            .....
TOTAL FUEL           .....
REASON FOR PIC EXTRA ............
---------------------------------------------------------------------
FMC INFO:
FINRES+ALTN           5323
TRIP+TAXI             3986
---------------------------------------------------------------------
NO TANKERING RECOMMENDED (P)
---------------------------------------------------------------------
I HEREWITH CONFIRM THAT I HAVE PERFORMED A THOROUGH SELF BRIEFING
ABOUT THE DESTINATION AND ALTERNATE AIRPORTS OF THIS FLIGHT
INCLUDING THE APPLICABLE INSTRUMENT APPROACH PROCEDURES, AIRPORT
FACILITIES, NOTAMS AND ALL OTHER RELEVANT PARTICULAR INFORMATION.

DISPATCHER: WM AUSTIN                    PIC NAME: GM, PAYAM

TEL: +1 800 555 0199                PIC SIGNATURE: ...............
```

```
ALTERNATE ROUTE TO:                                          FINRES   2078
APT      TRK DST              VIA                        FL  WC  TIME  FUEL
-----------------------------------------------------------------------
LFPG/27R 256 170  RAPOR1P RAPOR Z157 VEDUS              230 M023 0037  3245
                  VEDUS9X
-----------------------------------------------------------------------

MEL/CDL ITEMS DESCRIPTION
------------- -----------

-----------------------------------------------------------------------

ROUTING:

ROUTE ID: DEFRTE
EHAM/36L LOPIK2Z LOPIK N852 LNO LNO3D ELLX/06

-----------------------------------------------------------------------
DEPARTURE ATC CLEARANCE:
.
.
.
-----------------------------------------------------------------------
                         OPERATIONAL IMPACTS
                         -------------------
WEIGHT CHANGE UP 1.0          TRIP  P 0012 KGS   TIME M 0000
WEIGHT CHANGE DN 1.0          TRIP  M 0018 KGS   TIME P 0000
FL CHANGE     UP FL1                 NOT AVAILABLE
FL CHANGE     DN FL1          TRIP  P 0000 KGS   TIME P 0000
FL CHANGE     DN FL2          TRIP  M 0011 KGS   TIME P 0000
SPD CHANGE    CI 0            TRIP  M 0025 KGS   TIME P 0000
SPD CHANGE    CI 300          TRIP  P 0183 KGS   TIME M 0001
-----------------------------------------------------------------------
```

```
-----------------------------------------------------------------------
ATIS:
.
.
--------- --------- --------- --------- --------- --------- --------
RVSM: ALT SYS  LEFT:             STBY:             RIGHT:

--------- --------- --------- --------- --------- --------- --------
-----------------------------------------------------------------------
                                TIMES
                                -----

               ESTIMATED        SKED              ACTUAL

OUT            1555Z/1755L      1555Z/1755L       ......Z

OFF            1615Z/1815L      1615Z/1815L       ......Z

ON             1652Z/1852L      1657Z/1857L       ......Z

IN             1700Z/1900L      1705Z/1905L       ......Z

BLOCK TIME     0105             0110              ......

-----------------------------------------------------------------------
                               WEIGHTS
                               -------

                EST      MAX     ACTUAL

PAX             220              ......

BAG/CARGO       5.5              ......

PAYLOAD        23.0              ......

ZFW           150.3    175.0     ......

FUEL           10.7     40.7     ......  POSS EXTRA 30.0

TOW           160.4    190.4  LDG......

STAB TRIM                        ......

LAW           157.0    187.0     ......

-----------------------------------------------------------------------
                       TERRAIN CLEARANCE CHECK
                       -----------------------
DD CHECK - TERRAIN CLEARANCE CHECK DISABLED

DP CHECK - TERRAIN CLEARANCE CHECK DISABLED
-----------------------------------------------------------------------
```

FLIGHT LOG

MOST CRITICAL MORA 04100 FEET AT TOD///MXSHR 04 AT TOC

```
AWY                              FL   IMT   MN    WIND  OAT  EFOB  PBRN
POSITION    LAT      EET ETO MORA  ITT  TAS    COMP  TDV
IDENT       LONG    TTLT ATO DIS  RDIS   GS     SHR  TRP  AFOB  ABRN
FREQ
                                      353                    10.1   0.5
SCHIPHOL    N5218.5      ...  20   354         M028
EHAM       E00445.9 0000 ...       219  256               ....  ....

LOPIK2Z                      097   091  .45 331/030  M15   9.2   1.5
AM013       N5232.7 0003 ...  20   093         M028  M11
AM013      E00443.8 0003 ...  14   205  256          347  ....  ....

LOPIK2Z                      116   162  .56 333/031  M19   9.0   1.7
SPIJKERBOOR N5232.4 0000 ...  20   164         P014  M11
SPY        E00451.2 0003 ...   5   200  365          347  ....  ....
113.30

LOPIK2Z                      230   164  .71 343/123  M29   8.1   2.6
T O C       N5157.7 0004 ...  20   164  434    P123  P02
           E00506.9 0007 ...  36   164  557       4  352  ....  ....

LOPIK2Z                      230   162  .57 343/123  M29   8.0   2.6
LOPIK       N5155.8 0001 ...  21   164  348    P123  P02
LOPIK      E00507.8 0008 ...   2   162  471       4  352  ....  ....

N852                         230   162  .57 345/120  M29   7.7   2.9
VELED       N5123.4 0004 ...  22   164  348    P120  P02
VELED      E00522.0 0012 ...  34   128  468       3  363  ....  ....

N852                         230   165  .57 346/120  M29   7.7   3.0
LUTOM       N5115.9 0001 ...  23   168  348    P120  P02
LUTOM      E00525.3 0013 ...   8   120  468       3  363  ....  ....

BRUSSELS UIR
-EBUR       N5115.9 0000 ...
           E00525.3 0013 ...   0   120

N852                         230   162  .57 346/120  M29   7.6   3.1
BROGY       N5111.0 0001 ...  32   164  348    P120  P02
BROGY      E00526.9 0014 ...   5   115  468       3  363  ....  ....

N852                         230   161  .57 346/127  M29   7.4   3.3
TERLA       N5041.0 0004 ...  32   163  348    P127  P02
TERLA      E00539.9 0018 ...  31    84  475       3  348  ....  ....

N852                         230   157  .57 346/127  M29   7.3   3.4
OLNO        N5035.1 0000 ...  32   159  347    P127  P02
LNO        E00542.6 0018 ...   6    78  474       3  349  ....  ....
112.80

LNO3D                        230   158  .57 346/127  M29   7.3   3.4
T O D       N5031.4 0001 ...  41   159  347    P126  P02
           E00544.8 0019 ...   4    74  473       3  349  ....  ....
```

```
AWY                              FL   IMT   MN    WIND  OAT  EFOB  PBRN
POSITION    LAT      EET ETO MORA  ITT  TAS    COMP  TDV
IDENT       LONG    TTLT ATO DIS  RDIS   GS     SHR  TRP  AFOB  ABRN
FREQ
-----------------------------------------------------------------------
LNO3D                           135   157  .58 343/052  M19   7.2   3.5
LX873       N5009.2 0004 ...  39   159         P052  M07
LX873      E00557.7 0023 ...  24    50  416          356  ....  ....

LNO3D                           059   166  .42 337/031  M06   7.1   3.6
DIEKIRCH    N4951.7 0004 ...  35   168         P031  M09
DIK        E00607.8 0027 ...  19    31  299          356  ....  ....
114.40

LNO3D                                                     6.7   4.0
LUXEMBOURG  N4937.4 0010 ...
ELLX       E00612.3 0037 ...  31                       ....  ....
```

WIND INFORMATION

CLIMB	T O C	LOPIK	VELED
350 340/114 -50	270 336/131 -38	270 336/131 -38	270 338/127 -38
310 338/131 -45	250 339/127 -33	250 339/127 -33	250 342/123 -33
200 345/118 -24	230 343/123 -29	230 343/123 -29	230 346/120 -29
150 340/077 -20	210 346/122 -25	210 346/122 -25	210 348/118 -25
100 334/032 -16	190 343/114 -22	190 343/114 -22	190 345/114 -22

LUTOM	BROGY	TERLA	LNO
270 338/127 -38	270 338/127 -38	270 339/134 -38	270 339/134 -38
250 342/123 -33	250 342/123 -33	250 343/131 -33	250 343/131 -33
230 346/120 -29	230 346/120 -29	230 346/127 -29	230 346/127 -29
210 348/118 -25	210 348/118 -25	210 347/123 -25	210 347/123 -25
190 345/114 -22	190 345/114 -22	190 345/109 -23	190 345/109 -23

T O D	DESCENT
270 339/134 -38	350 344/110 -50
250 343/131 -33	310 341/129 -45
230 346/127 -29	200 349/116 -23
210 347/123 -25	150 344/078 -20
190 345/109 -23	100 333/030 -15

[ATC Flight Plan]

```
-----------------------------------------------------------------------
                          ICAO FLIGHT PLAN
                          ----------------

FF EHAAZQZX EBURZQZX EBBUZQZX LFEEZQZX
301828 CYULSBFP
(FPL-FIN1011-IS
-A333/H-SDE3GHIJ2J3J5M1RVWXY/LB2D1
-EHAM1555
-N0348F230 LOPIK2Z LOPIK N852 LNO LNO3D
-ELLX0027 LFPG
-PBN/A1B1C1D1O1S2 DOF/260330 REG/N339SB EET/EBUR0013 EBBU0024
 LFEE0034 OPR/FIN PER/C RMK/TCAS)
```

[Additional Info]

```
-----------------------------------------------------------------------
D I S P A T C H  B R I E F I N G  I N F O    AY1011    EHAM/ELLX
```

[Runway Analysis]

```
----------------------------------------------------------------------

TAKEOFF AND LANDING REPORT FIN 1011 EHAM-ELLX 30MAR26
TLR-1 SEQ-167914760 30MAR26 1828Z
A/C N339SB  A330-300 TRENT 772  BEW/CG 127303/.....

/// TAKEOFF DATA ///

APT   PRWY  POAT PWIND  PQNH  PMRTW FLP MT V1 VR V2 PTOW MFPTW LIMIT
EHAM  36L   7.0  328M13 1022  2330  1   54 27 27 38 1604 1904  AFM

RMKS FLEX - SEL TEMP 54
     BLEEDS ON

---- ---- ------ ----- ------- --- --- --- --- --- -----------------
RWY  OAT  WIND   QNH   MRTW    FLP V1  VR  V2  PWR CONFIG/CONDITION

--------------------------- ACARS RUNWAYS --------------------------
RWY          ACARS  LENGTH PMTOW NOTES
04                   6263  1888
06                  11283  2330 ILS 110.55
09                  11266  2330
18C                 10732  2330 ILS 109.50
18L                 11155  2330
18R                 12467  2330 ILS 110.10
22                   6611  1795 ILS 109.15
24                  11270  2330
27                  11329  2330 ILS 111.55
36C                 10827  2330 ILS 108.75
36L                 12467  2330
36R                 11155  2330 ILS 111.95

-------------------- DRY RWY - PTOW - CALM WIND --------------------
RWY          MTOW MT CONFIG                   FLP  V1  VR  V2  LIMIT
04           1988 34 FLEX - BLEEDS ON           2 127 127 137  FLD
06           2330 54 FLEX - BLEEDS ON           1 127 127 138  AFM
09           2330 54 FLEX - BLEEDS ON           1 127 127 138  AFM
18C          2330 54 FLEX - BLEEDS ON           1 127 127 138  AFM
18L          2330 54 FLEX - BLEEDS ON           1 127 127 138  AFM
18R          2330 54 FLEX - BLEEDS ON           1 127 127 138  AFM
22           2088 46 FLEX - BLEEDS ON           2 127 127 137  FLD
24           2330 54 FLEX - BLEEDS ON           1 127 127 138  AFM
27           2330 54 FLEX - BLEEDS ON           1 127 127 138  AFM
36C          2330 54 FLEX - BLEEDS ON           1 127 127 138  AFM
36L          2330 54 FLEX - BLEEDS ON           1 127 127 138  AFM
36R          2330 54 FLEX - BLEEDS ON           1 127 127 138  AFM
```

```
--------------- DRY RWY - PTOW PLUS 4000 - CALM WIND ---------------
RWY          MTOW MT CONFIG                    FLP  V1  VR  V2  LIMIT
04           1988 33 FLEX - BLEEDS ON            2 127 127 137  FLD
06           2330 54 FLEX - BLEEDS ON            1 127 127 138  AFM
09           2330 54 FLEX - BLEEDS ON            1 127 127 138  AFM
18C          2330 54 FLEX - BLEEDS ON            1 127 127 138  AFM
18L          2330 54 FLEX - BLEEDS ON            1 127 127 138  AFM
18R          2330 54 FLEX - BLEEDS ON            1 127 127 138  AFM
22           2088 46 FLEX - BLEEDS ON            2 127 127 137  FLD
24           2330 54 FLEX - BLEEDS ON            1 127 127 138  AFM
27           2330 54 FLEX - BLEEDS ON            1 127 127 138  AFM
36C          2330 54 FLEX - BLEEDS ON            1 127 127 138  AFM
36L          2330 54 FLEX - BLEEDS ON            1 127 127 138  AFM
36R          2330 54 FLEX - BLEEDS ON            1 127 127 138  AFM

------------- WET RWY - PTOW - CALM WIND - ENG A/I ON --------------
RWY          MTOW MT CONFIG                    FLP  V1  VR  V2  LIMIT
04           ---- --                           --- --- --- ---
06           2330 54 FLEX - BLEEDS ON            1 127 127 138  AFM
09           2330 54 FLEX - BLEEDS ON            1 127 127 138  AFM
18C          2330 54 FLEX - BLEEDS ON            1 127 127 138  AFM
18L          2330 54 FLEX - BLEEDS ON            1 127 127 138  AFM
18R          2330 54 FLEX - BLEEDS ON            1 127 127 138  AFM
22           1505 --                           --- --- --- ---  VMC
24           2330 54 FLEX - BLEEDS ON            1 127 127 138  AFM
27           2330 54 FLEX - BLEEDS ON            1 127 127 138  AFM
36C          2330 54 FLEX - BLEEDS ON            1 127 127 138  AFM
36L          2330 54 FLEX - BLEEDS ON            1 127 127 138  AFM
36R          2330 54 FLEX - BLEEDS ON            1 127 127 138  AFM

-------- WET RWY - PTOW PLUS 4000 - CALM WIND - ENG A/I ON ---------
RWY          MTOW MT CONFIG                    FLP  V1  VR  V2  LIMIT
04           ---- --                           --- --- --- ---
06           2330 54 FLEX - BLEEDS ON            1 127 127 138  AFM
09           2330 54 FLEX - BLEEDS ON            1 127 127 138  AFM
18C          2330 54 FLEX - BLEEDS ON            1 127 127 138  AFM
18L          2330 54 FLEX - BLEEDS ON            1 127 127 138  AFM
18R          2330 54 FLEX - BLEEDS ON            1 127 127 138  AFM
22           1505 --                           --- --- --- ---  VMC
24           2330 54 FLEX - BLEEDS ON            1 127 127 138  AFM
27           2330 54 FLEX - BLEEDS ON            1 127 127 138  AFM
36C          2330 54 FLEX - BLEEDS ON            1 127 127 138  AFM
36L          2330 54 FLEX - BLEEDS ON            1 127 127 138  AFM
36R          2330 54 FLEX - BLEEDS ON            1 127 127 138  AFM

/// LANDING DATA ///

APT   PRWY  POAT PWIND  PQNH  PMRLW FLP  PLDW  LIMIT
ELLX  06    4.0  347M09 1020  1870  FULL 1570  AFM

RMKS NONE

-------- ---- ------ ----- ------- --- ----- --- -------------------
RWY      OAT  WIND   QNH   MRLW    FLP VREF  PWR CONFIG/CONDITION
```

```
--------------------------- ACARS RUNWAYS --------------------------
RWY          ACARS  LENGTH PMRLW NOTES
06                   13130  1870 ILS 109.90
24                   13130  1870 ILS 110.70

------------- FLAPS FULL - PACKS ON - NO ENROUTE ICING -------------
DRY RWY / WET RWY
            06             24
  OAT       13130 FT       13130 FT
  -01       1870A/1870A    1870A/1870A
 / 04       1870A/1870A    1870A/1870A
   09       1870A/1870A    1870A/1870A
HW/10KT         0/    0        0/    0
TW/10KT         0/    0        0/    0

-------- LANDING DISTANCE - FLAPS FULL - MAX MANUAL BRAKING --------
                    ACTUAL            FACTORED
  LDW     VREF     DRY      WET      DRY      WET
  1540    126     3339     4215     4402     5409
  1560    126     3339     4215     4402     5409
/ 1580    126     3339     4215     4402     5409
  1600    126     3339     4215     4402     5409
  1620    127     3366     4249     4444     5459
HW/KT              -20      -25      -23      -29
TW/KT               61       76       90      108

END TAKEOFF AND LANDING REPORT FIN 1011 EHAM-ELLX 30MAR26
```

[Airport WX List]

```
-----------------------------------------------------------------
EHAM --> ELLX    AY  1011 / 30MAR2026
LIDO/WEATHER SERVICE       DATE : 30Mar2026   TIME : 18:28 UTC

AIRMETs:
  No Wx data available

SIGMETs:
  No Wx data available

Tropical Cyclone SIGMETs:
  No Wx data available

Volcanic Ash SIGMETs:
  No Wx data available

Departure:
EHAM/AMS  SCHIPHOL
  SA  301755  33013KT 300V010 9999 FEW024 FEW027CB 07/02 Q1022 TEMPO
              -SHRA
  FT  301704  3018/3124 33014KT 9999 SCT025
              BECMG 3019/3022 30007KT
              BECMG 3109/3112 31012KT
              BECMG 3117/3120 VRB02KT
              PROB30 TEMPO 3121/3124 7000 -RA BKN014

Destination:
ELLX/LUX  LUXEMBOURG
  SA  301750  35009KT 320V020 9999 FEW025CB 04/01 Q1020 NOSIG
  FT  301700  3018/3124 31012KT 9999 SCT015 BKN020
              PROB40 TEMPO 3018/3021 SCT015TCU
              BECMG 3021/3024 33008KT
              TEMPO 3112/3118 -SHRA -RA BKN012

Destination Alternates:
LFPG/CDG  CHARLES-DE-GAULLE
  SA  301800  32016KT 9999 VCSH FEW040 BKN053 11/03 Q1024 TEMPO
              32015G25KT
  FT  301700  3018/3124 32015G25KT CAVOK TX12/3112Z TN04/3106Z
              PROB30 TEMPO 3018/3022 -SHRA BKN030
              BECMG 3020/3022 32008KT
              PROB30 TEMPO 3112/3124 -RA BKN025


  AIRPORTLIST ENDED
```

[NOTAM]

LIDO-NOTAM-BULLETIN INCLUDES NOTAM, COMP NOTAM AND AIP-REGULATION
VALID: 2603301555 - 2603302038 STD(EOBT)+TRIP+ALTN+3HRS
FIN 1011 /30MAR OFP-NR: 1
ROUTE: EHAM - ELLX ALTN: LFPG
N0348F230 LOPIK2Z LOPIK N852 LNO LNO3D

==========
DEPARTURE AIRPORT - DETAILED INFO
==========

EHAM/AMS SCHIPHOL

++++++++++++++++++++++++++++ AIRPORT ++++++++++++++++++++++++++++++

A0728/26
MON-FRI 0500-1300
MOBILE CRANE ERECTED ALONG STRIP **RWY 18R/36L**, 24FT AMSL. OCA/H NOT AFFECTED.
A0729/26
MON-FRI 0500-1500
CHANGE OF OPERATING MINIMA OCA(OCH) **RWY 06** DUE TO CRANE LPV ACFT **CAT** A INCREASED TO 270(281), **CAT** B INCREASED TO 279(290), **CAT** C INCREASED TO 289(300), **CAT** D-DL INCREASED 299(310).
REF AIP **AD** 2.EHAM IAC RNP **RWY 06**.
A0730/26
MON-FRI 0500-1500
CHANGE OF OPERATING MINIMA OCA(OCH) **RWY 36C** DUE TO CRANE.
LOC ACFT **CAT** A-DL INCREASED TO 384(396).
REF AIP **AD** 2 EHAM IAC **ILS CAT** II AND III OR **LOC RWY 36C**.
A0731/26
MON-FRI 0500-1500
REF AIP NETHERLANDS **AD** 2.EHAM AOC TYPE A **RWY 18C-36C**
CRANE ERECTED AT PSN 521700.1N 0044411.0E, 2000M BEYOND TORA **RWY** 18C ON EXTD RCL, 138FT AMSL, MARKED AND LGTD.
A0751/26
MON-FRI 0500-1500
CHANGE OF OPERATING MINIMA OCA(OCH) **RWY 04** DUE TO CRANE.
RNP LPV **CAT** A-D INCREASED TO:
CAT A 254 (267), **CAT** B 267 (280),
CAT C 275 (288), **CAT** D 285 (298).
REF AIP AD2. EHAM IAC RNP **RWY 04**.
A0752/26
MON-FRI 0500-1500
CRANE ERECTED AT PSN 521804.8N 0044737.4E. 541M BEYOND THR 04 AND 270M RIGHT OF RCL, 138FT AMSL, MARKED AND LGTD.
A0753/26
MON-FRI 0500-1500
CHANGE OF OPERATING MINIMA OCA(OCH) **RWY 22** DUE TO CRANE.
ILS CAT I ACFT **CAT** A-D INCREASED TO:
CAT A 184 (198), **CAT** B 196 (210),
CAT C 205 (218), **CAT** D 215 (228).
REF AIP **AD** 2 EHAM IAC **ILS** OR **LOC RWY 22**.
A0743/26
MON-FRI 0430-1530
CRANE ERECTED BTN PSN 521914.7N 0044616.6E AND 521912.8N 0044607.8E, BTN 1729M AND 1899M BEYOND THR 27 AND BTN 360M AND 311M RIGHT OF RCL. 109FT AMSL, MARKED AND LGTD.

A0744/26
MON-FRI 0430-1530
CHANGE OF OPERATING MINIMA OCA(OCH) **RWY 27** DUE TO CRANE.
ILS CAT I **CAT** A-DL INCREASED TO:
CAT A 154 (166), **CAT** B 166 (179),
CAT C 175 (187), **CAT** D 185 (197),
CAT DL 185 (197).
REF AIP EHAM **AD** 2.24 IAC **ILS** II AND III OR **LOC RWY 27**.

A0573/26
TWY A BTN **TWY A22** AND **TWY A25**, ACFT WITH WINGSPAN MORE THAN 69M GUIDED BY MARSHALLER.

A0750/26
CHANGE OF CIRCLING MINIMA OCA/H DUE TO CRANE. **CAT** A INCREASED TO 739(750).

A0723/26
REF AIP SUP 28/2025 AMSTERDAM SCHIPHOL (EHAM) CRANES EXTENDED RCL 22, TIMES CHANGED TO MON-SAT 0500-1900 (MON-SAT 0400-1800).

A0722/26
CONSTRUCTION PHASE 26.0 IN PROGRESS. REF AIP SUP 30/2025.

A0684/26
MAR 23-27 1400-0500, 28 1400-0400, 30-31 2000-0400, APR 01-03 , 2000-0400, 07 1400-0400
TWY A13 CLSD BTN AIRCRAFT STAND E08 AND AIRCRAFT STAND E18.

A0705/26
2 CRANES ERECTED AT PSN 521842.2N 0044155.8E. 3300M BEYOND TORA **RWY 27** AND 320M RIGHT OF EXTD RCL. 211FT AMSL, MARKED AND LGTD. CLOSE-IN OBST FOR IFR DEP **RWY 27**. OCA/H NOT AFFECTED.
REF AIP NETHERLANDS AERODROME EHAM **AD** 2.10.

A0669/26
CL LIGHTS ON **TWY A13** BTN **TWY A10** AND **TWY A12 U/S**.
MARSHALLER GUIDANCE REQUIRED IF RVR 350M OR LESS.

A0673/26
TWY A13 CLSD BTN AIRCRAFT STAND E08 AND AIRCRAFT STAND D03.

A0694/26
AD NOT AVBL AS COMMERCIAL ALTERNATE.

A0329/26
TRIGGER NOTAM - PERM AIRAC AIP AMDT 03/2026 WEF 19 MAR 2026:
MAG VAR 2025 IMPLEMENTED.

A0646/26
ON **TWY G** BTN G3 AND G4 STRICTLY FOLLOW MARSHALLER DUE TO DAMAGED **TWY** SURFACE.

A0623/26
CHANGE OF OPERATING MINIMA OCA(OCH) **RWY 27** DUE TO CRANE.
LOC ACFT **CAT** A-DL INCREASED TO 762(772).
LNAV ACFT **CAT** A-DL INCREASED TO 631(642).
REF AIP **AD** 2.EHAM IAC RNP **RWY 27** AND **AD** 2.EHAM IAC **LOC RWY 27**.

A0621/26
CRANE ERECTED AT PSN 521837.5N 0045632.0E.
9860M BEFORE THR **RWY 27** AND 1340M LEFT OF EXTD RCL
516FT AMSL, MARKED AND LGTD.

A0588/26
CHANGE OF OPERATING MINIMA OCA(OCH) **RWY 36C** DUE TO MAINTENANCE WORKS.
ILS CAT I **CAT** A-DL INCREASED TO:
CAT A 161 (173), **CAT** B 171 (183), **CAT** C 181 (193), **CAT** D 191 (203), **CAT** DL 191 (203).
ILS CAT II **CAT** A-DL INCREASED TO:
CAT A (78), **CAT** B (88), **CAT** C (108), **CAT** D (121), **CAT** DL (121).
REF AIP **AD** 2 EHAM IAC - 29.

A0589/26
CONSTRUCTION WORK BTN **TWY** A21-A25. PSN 521829.38N 0044427.51E. TRUE BEARING FROM ARP 270DEG AND DISTANCE 1583M. 30FT AMSL, MARKED AND LGTD.

A0590/26
CONSTRUCTION WORK BTN **TWY** A21-A25. PSN 521834.77N 0044428.36E. TRUE
BEARING FROM ARP 277DEG AND DISTANCE 1576M. 23FT AMSL, MARKED AND LGTD.

A0569/26
TWY B CLSD BTN **TWY A22** AND **TWY A25**.

A0570/26
RAPID EXIT **TWY W7 CLSD**.

A0572/26
CL LIGHTS **TWY A** BTN **TWY A22** AND **TWY A24 U/S**. MARSHALLER GUIDANCE REQUIRED IF RVR 350M OR LESS.

A0555/26
INCREASED BIRD ACTIVITY ON AND AROUND **AD**. AN INCREASED POTENTIAL FOR BIRD STRIKES EXISTS FOR ALL INBD AND OUBD ACFT.

A0529/26
TURN FROM **TWY A** EASTBOUND TO **TWY A15** AND TURN FROM **TWY A15** TO **TWY** A WESTBOUND PROHIBITED FOR ACFT WITH OUTER MAIN GEAR WHEEL SPAN OF 9M OR MORE.

A0372/26
CRANE ERECTED AT PSN 522310N 0045423E. 400FT AMSL.

A0315/26
RWY DESIGNATOR MARKING ON **TWY W9** SHOULD READ 36C-18C.

A0198/26
CHANGE OF OPERATING MINIMA OCA(OCH) **RWY 18C** (LNAV) INCREASED TO 690 (701). REF AIP IAC RNP **RWY 18C**.

A0193/26
TWY A29 AND **TWY B** BTN **TWY A28** AND **TWY A29**, WINGSPAN MORE THAN 69M GUIDED BY MARSHALLER.

A3038/25
ACFT TOWED BY A YELLOW-COLOURED TOW TRUCK EQUIPPED WITH ANTI-COLLISION LIGHTS IS UNDER THE PILOTS COMMAND AND REFERRED TO BY ATC AS TAXITOW. RIGHT-OF-WAY IN ACCORDANCE WITH TAXIING ACFT IS APPLICABLE.

A3004/25
TWY A BTN **TWY A28** AND **TWY A29** ACFT WITH WINGSPAN MORE THAN 69M MUST BE GUIDED BY MARSHALLER.

A2844/25
2 CRANES ERECTED AT PSN 521747.9N 0044218.1E. TRUE BEARING FROM ARP 252 DEG AND DISTANCE 4200M. 233FT AMSL, MARKED AND LGTD, OCA/H NOT AFFECTED. REF AIP NETHERLANDS EHAM **AD** 2.10.

++++++++++++++++++++++++++++++ RUNWAY ++++++++++++++++++++++++++++++

A0545/26
RWY 24 TORA SIGN S5 **NOT AVBL**.

++++++++++++++++++++++++++++++ SID ++++++++++++++++++++++++++++++

A0413/26
RWY 06 SID ARNEM 3R SERIAL NR 002 COLUMN SPEED READ - INSTEAD OF -200. REF AIP AIRAC AMDT 03/2026 WEF 19 MAR, EHAM **AD** 2.22 PARA 1.5.5.

A0414/26
RWY 06 SID BERGI 3R SERIAL NR 001 COLUMN SPEED READ -220 INSTEAD OF -. SERIAL NR 002 COLUMN SPEED READ - INSTEAD OF -220.
REF AIP AIRAC AMDT 03/2026 WEF 19 MAR, EHAM **AD** 2.22 PARA 1.5.5.

A0415/26
RWY 06 SID RENDI 2R SERIAL NR 003 COLUMN SPEED READ - INSTEAD OF -220.
REF AIP AIRAC AMDT 03/2026 WEF 19 MAR, EHAM **AD** 2.22 PARA 1.5.5.

A0416/26
RWY 06 SID LOPIK 2R
SERIAL NR 002 COLUMN SPEED READ -220 INSTEAD OF -.
SERIAL NR 003 COLUMN SPEED READ - INSTEAD OF -220.
REF AIP AIRAC AMDT 03/2026 WEF 19 MAR, EHAM **AD** 2.22 PARA 1.5.5.

A0417/26
RWY 06 SID ANDIK 2T
SERIAL NR 001 COLUMN SPEED READ -220 INSTEAD OF -.
SERIAL NR 002 COLUMN SPEED READ - INSTEAD OF -220.
REF AIP AIRAC AMDT 03/2026 WEF 19 MAR, EHAM **AD** 2.22 PARA 1.5.6.

A0418/26
RWY 06 SID ARNEM 3T
SERIAL NR 002 COLUMN SPEED READ -220 INSTEAD OF -.
SERIAL NR 003 COLUMN SPEED READ - INSTEAD OF -220.
REF AIP AIRAC AMDT 03/2026 WEF 19 MAR, EHAM **AD** 2.22 PARA 1.5.6.

A0419/26
RWY 06 SID KUDAD 2T
SERIAL NR 003 COLUMN SPEED READ - INSTEAD OF -220.
REF AIP AIRAC AMDT 03/2026 WEF 19 MAR, EHAM **AD** 2.22 PARA 1.5.6.

A0420/26
RWY 06 SID RENDI 2T
SERIAL NR 003 COLUMN SPEED READ - INSTEAD OF -220.
REF AIP AIRAC AMDT 03/2026 WEF 19 MAR, EHAM **AD** 2.22 PARA 1.5.6.

A0421/26
RWY 09 SID BERGI 3N
SERIAL NR 003 COLUMN ALTITUDE READ +2500 INSTEAD OF -.
REF AIP AIRAC AMDT 03/2026 WEF 19 MAR, EHAM **AD** 2.22 PARA 1.5.7.

A0422/26
RWY 36L SID VOLLA 2Z
SERIAL NR 002 COLUMN PATH DESCRIPTOR READ CF INSTEAD OF TF.
REF AIP AIRAC AMDT 03/2026 WEF 19 MAR, EHAM **AD** 2.22 PARA 1.5.15.

A0425/26
RWY 18C SID BETUS 6Y, DENAG 7X, WISPA 4X
SERIAL NR 001 COLUMN WPT IDENT READ LISOH INSTEAD OF AM080.
REF AIP AIRAC AMDT 03/2026 WEF 19 MAR, EHAM **AD** 2.22 PARA 1.5.8.

A0431/26
RWY 27 SID BERGI 2P
SERIAL NR 002 COLUMN SPEED READ - INSTEAD OF -220.
REF AIP AIRAC AMDT 03/2026 WEF 19 MAR, EHAM **AD** 2.22 PARA 1.5.12.

A0432/26
RWY 18L SID KUDAD 3E
SERIAL NR 002 COLUMN WPT IDENT READ OKUDO INSTEAD OF AM073.
REF AIP AIRAC AMDT 03/2026 WEF 19 MAR, EHAM **AD** 2.22 PARA 1.5.9.

A0433/26
RWY 18L SID LOPIK 5E
SERIAL NR 002 COLUMN WPT IDENT READ OGOSU INSTEAD OF AM029.
REF AIP AIRAC AMDT 03/2026 WEF 19 MAR, EHAM **AD** 2.22 PARA 1.5.9.

A0434/26
RWY 24 SID ANDIK 2S (ANDI2S AND AND2SY), KUDAD 3S (KUD3SY), LOPIK 3S (LOP3SY), RENDI 2S (REND2S AND REN2SY) AND SPY 4K (SPY4K)
SERIAL NR 001 COLUMN ALTITUDE READ - INSTEAD OF +500.
REF AIP AIRAC AMDT 03/2026 WEF 19 MAR, EHAM **AD** 2.22 PARA 1.5.11.

A0438/26
RWY 36L SID RENDI 2Z.
RENUMBER SERIAL NR 007 TO SERIAL NR 008 AND CHANGE COLUMN DISTANCE TO READ 7.9 INSTEAD OF 12.9.
INSERT A NEW SERIAL NR 007 WITH FOLLOWING COLUMN DATA:
PATH DESCRIPTOR READ TF, WPT IDENT READ RENDI, COURSE/TRACK MAG/(T) READ 123/(125.4), DISTANCE READ 5.0.
OTHER COLUMNS ARE EQUAL TO OTHER SERIAL NRS.
REF AIP AIRAC AMDT 03/2026 WEF 19 MAR, EHAM **AD** 2.22 PARA 1.5.15.
A0439/26
RWY 18L SID ARNEM 5E, RENDI 3E.
SERIAL NR 001 COLUMN WPT IDENT READ OTNES INSTEAD OF AM037.
REF AIP AIRAC AMDT 03/2026 WEF 19 MAR, EHAM **AD** 2.22 PARA 1.5.9.
A0448/26
RWY 36L SID LOPIK 4V, ARINC DESIGNATOR READ LOPI4V INSTEAD OF LOPI5V.
A0511/26
RWY 18L SID ANDIK 4E.
SERIAL NR 001 COLUMN WPT IDENT READ OTNES INSTEAD OF AM037.
RENUMBER SERIAL NR 002 TO SERIAL NR 003 AND CHANGE COLUMN DISTANCE TO READ 4.8 INSTEAD OF 7.6 AND CHANGE COLUMN SPEED TO READ - INSTEAD OF -220.
INSERT A NEW SERIAL NR 002 WITH FOLLOWING COLUMN DATA:
PATH DESCRIPTOR READ TF, WPT IDENT READ AM047, COURSE/TRACK MAG/(T) READ 090/(092.0), DISTANCE READ 2.8, SPEED READ -220.
OTHER COLUMNS ARE EQUAL TO OTHER SERIAL NRS. RENUMBER ALL SUBSEQUENT SERIAL NRS IN ORDER.
REF AIP AIRAC AMDT 03/2026 WEF 19 MAR, EHAM **AD** 2.22 PARA 1.5.9.

++++++++++++++++++++++ APPROACH PROCEDURES ++++++++++++++++++++++

A0320/26
ILS RWY 36C DOWNGRADED TO III/E/3 (SUPPORTS **CAT** III OPERATIONS).
A0197/26
RWY 04 RNP APPROACH MOCA ON INTERMEDIATE SEGMENT FROM NELFE TO AM204 INCREASED TO 1100FT AMSL DUE TO WINDMILLS IN FINAL APPROACH AREA. REF AIP IAC RNP **RWY 04**.

DESTINATION AIRPORT - DETAILED INFO

ELLX/LUX LUXEMBOURG

++++++++++++++++++++++++++ AIRPORT ++++++++++++++++++++++++++

A0934/26
FUEL JET A1 AVAILABILITY LTD. OPR TO LIMIT **FUEL** UPLIFT AT ELLX TO STRICT MINIMUM
A0324/26
INCREASED MIGRATORY BIRD ACTIVITY OVER AND IN VICINITY OF **AD**

+++++++++++++++++++++++++++++ SID +++++++++++++++++++++++++++++

D0057/26
MSA DIK **DVOR/DME** TO READ AS FOLLOWS:
4000FT FOR SECTOR 133DEG - 218DEG
3600FT FOR SECTOR 218DEG - 133DEG
REF ELLX **AD** 2.24 **AD** 2.ELLX-STAR.01, **AD** 2.ELLX-SID.01 AND **AD** 2.ELLX-SID.02. AIP WILL BE AMENDED ACCORDINGLY.

D0056/26
MSA LUX **DVOR/DME** TO READ AS FOLLOWS:
3600FT FOR SECTOR 249DEG - 291DEG FROM 0NM - 15NM,
3600FT FOR SECTOR 291DEG - 149DEG.
REF ELLX **AD** 2.24 **AD** 2.ELLX-SID.01, **AD** 2.ELLX-SID.02, **AD** 2.ELLX-IAC.01B, **AD** 2.ELLX-IAC.02B, **AD** 2.ELLX-IAC.03 AND **AD** 2.ELLX-IAC.04.
AIP WILL BE AMENDED ACCORDINGLY.

++++++++++++++++++++++ APPROACH PROCEDURES ++++++++++++++++++++++++

A0567/26
RWY 24 LOC ILW 110.700MHZ POSS SGL DEGRADATION BTN 022DEG AND 029DEG AT 17NM, 1500FT AGL. OPERATES NORMALLY IN ALL OTHER DIRECTIONS.

==========
DESTINATION ALTERNATE AIRPORT(S)
==========

LFPG/CDG CHARLES-DE-GAULLE

++++++++++++++++++++++++++++ AIRPORT +++++++++++++++++++++++++++++

A1880/26
TWY C CLSD BTN **TWY C2** AND UC4 EXCLUDED.
A1611/26
AIRAC AIP SUP 019/26 : PHASE 1 **ACTIVATED**
A0872/26
TRIGGER NOTAM - AIRAC AIP SUP 019/26 :
RESTRICTIONS ON USE OF **AD** PARIS CHARLES DE GAULLE - REHABILITATION AND CLOSURE OF PART OF **TAXIWAYS** F AND E.
THE DATES OF PHASES ARE CONFIRMED BY NOTAM.
THIS AIP SUP IS **AVBL** AT WWW.SIA.AVIATION-CIVILE.GOUV.FR
A0255/26
REF :
AD2 LFPG STAR **RWY** EAST RNAV BIBAX LUKIP
AD2 LFPG STAR **RWY** EAST RNAV KEPER ROMGO
AD2 LFPG STAR **RWY** WEST RNAV BIBAX LUKIP 01
AD2 LFPG STAR **RWY** WEST RNAV BIBAX LUKIP H
AD2 LFPG STAR **RWY** WEST RNAV KEPER ROMGO
READ :
MSA BANOX 2700FT,
MSA MOBRO 2400FT,
MSA MOPAR 2400FT,
READ :
MOCA HLDG BANOX 2700FT,
MOCA HLDG BIBAX 1900FT,
MOCA HLDG LUKIP 2000FT,
MOCA HLDG MOPAR 2200FT,
MOCA HLDG ROMGO 2700FT,
MOCA HLDG ROU 2400FT.
A0991/26
ADDITION TO AIP AD2.21.2.2.1 DEP OPERATIONAL PROCEDURES : REACHING 3000FT (ABOVE AERODROME LEVEL), AFTER NADP1, CONTINUE ACCELERATION UP TO 250KT MAXIMUM MAINTAINING A POSITIVE CLIMB GRADIENT.

++++++++++++++++++++++++++++++ STAR ++++++++++++++++++++++++++++++

A1610/26
STAR RNAV ENORI 9J **RWY 26L** 26R 27L 27R **NOT AVBL.**

==========
EXTENDED AREA AROUND DEPARTURE
==========

EHAA AMSTERDAM FIR

++++++++++++++++++++++++++++ FIR/UIR ++++++++++++++++++++++++++++

B0435/26
SEVERAL OBSTACLE LIGHTS **U/S** AT OFFSHORE WINDPARK EGMOND AAN ZEE, PSN 5236N 00424E. 378FT AMSL. REF AIP ENR 5.4 (ID 206).
B0402/26
NIGHT OBST LIGHTING OF MOST WIND TURBINES AT WINDFARM GT 1 **U/S**. REF AIP NETHERLANDS ENR 5.4 ID 419.
B0400/26
SEVERAL OBSTACLE LIGHTS **U/S** AT NOORDZEE WINDPARK BORKUM RIFFGRUND 2, PSN 5357N 00628E RADIUS 3NM. ELEV 649FT AMSL. REF AIP THE NETHERLANDS ENR 5.4 ID 518.
B0396/26
SEVERAL OBSTACLE LIGHTS **U/S** AT WINDPARK NOORDOOSTPOLDER, BTN LEMMER AND URK ALONG THE COASTLINE. REF AIP ENR 5.4 (ID 455 AND 457).
A0331/26
TRIGGER NOTAM - PERM AIRAC AIP AMDT 03/2026 WEF 19 MAR 2026: FRA RELEVANCE GODOS, LONAM, RENEQ AND TOPPA AMENDED.
B0391/26
SEVERAL OBSTACLE LIGHTS **U/S** AT WINDPARK PRINSES AMALIA, PSN 523434.2N 0041302.5E, 331FT AMSL, REF AIP ENR 5.4 (ID317).
B0313/26
SEVERAL OBSTACLE LGTS **U/S** AT NOORDZEE TRIANEL WINDPARK BORKUM, PSN 5403N 00624E, RADIUS 5NM. ELEV 584FT AMSL. REF AIP THE NETHERLANDS ENR 5.4 ID 420.
B0306/26
SEVERAL OBSTACLE LIGHTS **U/S** AT WINDPARK VEJA MATE. PSN 5420N 00553E, 590FT AMSL. REF AIP ENR 5.4 (ID 498).
A0559/26
ADVANCE NOTICE: AIP AMDT 03/2026, EFF 19 MAR 2026, CONTAINS ERRONEOUS SID CODING DATA. SID-SPECIFIC CORRECTIONS AND ASSOCIATED CONSTRAINTS ARE PUBLISHED IN INDIVIDUAL NOTAM. NAVIGATION DATABASE CORRECTIONS ARE IN PROGRESS. IN CASE OF DISCREPANCIES BETWEEN THE PUBLISHED CHART AND THE FMS, THE CONSTRAINTS PUBLISHED IN THE APPLICABLE NOTAM SHALL BE APPLIED.
REF AIP AIRAC 03/2026 WEF 19 MAR, EHAM **AD** 2.22, EHBK **AD** 2.22, EHEH **AD** 2.22, EHGG **AD** 2.22, EHKD **AD** 2.22, EHRD **AD** 2.22.
B0253/26
OBST LIGHTS WIND FARM BARD OFFSHORE 1 PARTLY **U/S**. ELEVATION 492FT AMSL. REF AIP THE NETHERLANDS ENR 5.4 ID 333.
B0220/26
OBST LIGHTS **U/S** ONE WINDTURBINE NIEUWLEUSEN, PSN 523414N 0061354E, 666FT AGL. REF AIP ENR 5.4, ID 625.
B0193/26
LIMITED SURVEILLANCE COVERAGE OVER THE NORTH SEA BELOW FL055.

B0158/26
NEW NORTH SEA HELIDECK EHHR, BORWIN 4 (PLATFORM) INCLUDING HTZ.
PSN 541750N 0060130E. REF AIP NETHERLANDS GEN 2.4, ENR 2.2.
B0157/26
NEW NORTH SEA HELIDECK EHHG, BORWIN EPSILON (PLATFORM) INCLUDING
HTZ. PSN 542204N 0061115E. REF AIP NETHERLANDS GEN 2.4, ENR 2.2.
B0156/26
NEW NORTH SEA HELIDECK EHNF, N07-FA-1(PLATFORM) INCLUDING HTZ. PSN
533050N 0060100E. REF AIP NETHERLANDS GEN 2.4, ENR 2.2.
B0154/26
NEW NORTH SEA HELIDECK EHHU, DOLWIN EPSILON (PLATFORM) INCLUDING
HTZ. PSN 540405N 0061021E. REF AIP NETHERLANDS GEN 2.4, ENR 2.2.
B0153/26
NEW NORTH SEA HELIDECK EHHP, BORWIN KAPPA (PLATFORM) INCLUDING
HTZ. PSN 541737N 0061312E. REF AIP NETHERLANDS GEN 2.4, ENR 2.2.
B0125/26
SEVERAL OBSTACLE LIGHTS **U/S** AT WINDPARK NOORDZEE HOLLANDSE KUST
ZUID. 738 AMSL. REF AIP ENR 5.4 (ID 595).
B0118/26
GLOBAL TECH 1 (EHHI) RADIO OPERATOR FREQ CHANGED TO 151.110.
A0130/26
AMSTERDAM INFORMATION 124.300MHZ, EXPECT LIMITED RADIO COVERAGE
BELOW 1500FT BETWEEN EHRD CTR AND EHSE.
B0005/26
SEVERAL OBST LIGHTS NOORDZEE RIFFGAT **U/S**. 487FT AMSL.
REF AIP NETHERLANDS ENR 5.4 ID 415.

==========
EXTENDED AREA AROUND DESTINATION
==========

EBBU BRUSSELS FIR

++++++++++++++++++++++++++++ FIR/UIR ++++++++++++++++++++++++++++++

D0156/26 VALID: 30-MAR-26 1300 - 30-MAR-26 2000
BRUSSELS CTA EAST ONE AND TWO (IFR TRG / PJE / VFR FLT) FORBIDEN
BLW
FL075.

++++++++++++++++++++++ RESTRICTED AIRSPACE ++++++++++++++++++++++++

F0008/26
EVERY MON-FRI H24
EBR67 NIVELLES ACT
F) GND G) 400FT AGL

==========
EXTENDED AREA AROUND DESTINATION ALTERNATE AIRPORT(S)
==========

LFFF FRANCE FIR/UIR

++++++++++++++++++++++++++++ FIR/UIR ++++++++++++++++++++++++++++++

F0501/26
30 31 02 0615-0645
POSSIBLE GNSS JAMMING:
-POTENTIAL GPS RECEIVERS DISTURBANCE IN NANCY-OCHEY AREA, FROM PSN CENTRED ON BA133.
- IMPACT VOLUME: RADIUS CIRCLE 122NM CENTRED ON SUPRA PSN
- INFORMATION **AVBL** FROM LFSO TWR 122.100MHZ
- IN THE EVENT OF DISTURBANCE, REPORT TO RELEVANT ATS UNITS.

F0362/26
29 0400-0600 1800-2030, 30 31 0400-0500 2000-2030
FREQ 'SEINE APP' RESTRICTIONS:
- 'SEINE APP' FREQ 118.050MHZ **NOT AVBL**:
. 'SEINE' TMA 1, 5 AND 6 DEACTIVATED
. 'PARIS' TMA 4.1 AND 5.1 DEACTIVATED
. IFR FLT: CONTACT 'PARIS' CTL 125.450MHZ 135.405MHZ 127.080MHZ
. VFR FLT: CONTACT 'PARIS' INFO 126.100MHZ OR 129.625MHZ.
- 'SEINE APP' FREQ 134.875MHZ **NOT AVBL**:
. 'PARIS' TMA 7.2 RECLASSIFIED TO E
. 'SEINE' TMA 7.1, 7.2, 8, 9 AND 10 NOT ACT
. IFR FLT: CONTACT 'PARIS' CTL 118.725MHZ, 122.575MHZ OR 127.080MHZ . VFR FLT: CONTACT 'PARIS' INFO 126.100MHZ OR 129.625MHZ.
- 'SEINE APP' FREQ 118.890MHZ **NOT AVBL**:
. 'SEINE' TMA 2 3 4 NOT ACT
. 'PARIS' TMA 7.1 RECLASSIFIED TO E
. IFR FLT: CONTACT 'PARIS' CTL 120.955MHZ 132.100MHZ 125.080MHZ
. VFR FLT: CONTACT 'PARIS' INFO 126.100MHZ 125.700MHZ

F0552/26
'LORRAINE' CTR AND TMA 1.1 2.1 4 5 SKED :
- MON-FRI : 0600-1930
- SAT : ATS NOT PROVIDED
- SUN : 1000-1700
OTHER SKED 24HR PPR TEL **AD** ADMINISTRATION.

F0581/26
FRENCH AIR CARRIERS AND CAPTAINS OF AIRCRAFT IN CHARGE OF AIR SERVICES OPERATED BY CARRIERS HOLDING AN OPERATING LICENSE ISSUED BY FRANCE, WHETHER THEY ARE CONTRACTUAL CARRIERS AND/OR OPERATING CARRIERS, OR PERFORMING AIR SERVICES THROUGH A WET LEASE OR A CODESHARE AGREEMENT AS WELL AS FOR ANY FLIGHT MADE WITH AN AIRCRAFT REGISTERED IN FRANCE ARE REQUESTED NOT TO PENETRATE INTO THE AIRSPACE OF LIBYA (FIR TRIPOLI (HLLL)) EXCEPT OF THE TWO-WAY ROUTES SEGMENTS M999 (ZARZAITINE SEBHA) AND G655 (SEBHA GARIN), ON WHICH A FLIGHT LEVEL ABOVE OR EQUAL TO FL320 IS REQUESTED TO BE MAINTAINED AT ALL TIMES.
THE AIR OPERATOR MUST CARRY OUT A ROBUST RISK ASSESSMENT TO ENSURE THAT THE FLIGHT CAN BE CONDUCTED UNDER SATISFACTORY SAFETY AND SECURITY CONDITIONS BEFORE ENTERING IN LYBIAN AIRSPACE.
THIS NOTAM SUPERSEDES THE RESTRICTIONS CONCERNING LYBIA AIRSPACE (FIR TRIPOLI (HLLL)) ISSUED IN PARAGRAPH 3.3 LYBIA OF THE AIC NR 02/26 CURRENTLY IN EFFECT.

F0579/26

FRENCH AIR CARRIERS AND CAPTAINS OF AIRCRAFT IN CHARGE OF AIR SERVICES OPERATED BY CARRIERS HOLDING AN OPERATING LICENSE ISSUED BY FRANCE, WHETHER THEY ARE CONTRACTUAL CARRIERS AND/OR OPERATING CARRIERS, OR PERFORMING AIR SERVICES THROUGH A WET LEASE OR A CODESHARE AGREEMENT AS WELL AS FOR ANY FLIGHT MADE WITH AN AIRCRAFT REGISTERED IN FRANCE ARE REQUESTED NOT TO PENETRATE INTO THE AIRSPACE OF OMAN (FIR MUSCAT (OOMM)), EXCEPT :
- MAINTAINING ALL TIMES A FLIGHT LEVEL ABOVE OR EQUAL TO FL320, FOR ROUTES LOCATED SOUTH OF THE SEGMENTS DEFINED BY THE FOLLOWING REPORTING POINTS, RESPECTING THE SEQUENCE BELOW :
DANOM 225454N450509E
KEDON 202516N555850E
VELOD 234617N573430E
THE AIR OPERATOR MUST CARRY OUT A ROBUST RISK ASSESSMENT TO ENSURE THAT THE FLIGHT CAN BE CONDUCTED UNDER SATISFACTORY SAFETY AND SECURITY CONDITIONS BEFORE ENTERING THIS AREA.

F0578/26

FRENCH AIR CARRIERS AND CAPTAINS OF AIRCRAFT IN CHARGE OF AIR SERVICES OPERATED BY CARRIERS HOLDING AN OPERATING LICENSE ISSUED BY FRANCE, WHETHER THEY ARE CONTRACTUAL CARRIERS AND/OR OPERATING CARRIERS, OR PERFORMING AIR SERVICES THROUGH A WET LEASE OR A CODESHARE AGREEMENT AS WELL AS FOR ANY FLIGHT MADE WITH AN AIRCRAFT REGISTERED IN FRANCE ARE REQUESTED NOT TO PENETRATE INTO THE AIRSPACE OF SAUDI ARABIA (FIR JEDDAH (OEJD)), EXCEPT
- FOR THE USE OF JEDDAH AERODROME (OEJN) AND TABUK AERODROME (OETB). - FOR ROUTES ON WHICH A FLIGHT LEVEL ABOVE OR EQUAL TO FL320 IS REQUESTED TO BE MAINTAIN AT ALL TIMES AND ARE LOCATED WEST OF THE SEGMENTS DEFINED BY THE FOLLOWING REPORTING POINTS, RESPECTING THE SEQUENCE BELOW :
OBSOT 295451N373455E
DANOM 225454N450509E
KEDON 202516N555850E
- FOR THE USE OF YENBO AERODROME (OEYN) AND TAIF AERODROME (OETF) AS ALTERNATE ONLY.
THE AIR OPERATOR MUST CARRY OUT A ROBUST RISK ASSESSMENT TO ENSURE THAT THE FLIGHT CAN BE CONDUCTED UNDER SATISFACTORY SAFETY AND SECURITY CONDITIONS BEFORE ENTERING THIS AREA AND BEFORE OPERATING FLIGHTS TO JEDDAH AIRPORT (OEJN).
THIS NOTAM SUPERSEDES THE RESTRICTIONS CONCERNING SAUDI ARABIA AIRSPACE (FIR JEDDAH (OEJD)) ISSUED IN PARAGRAPH 3.13 SAUDI ARABIA OF THE AIC NR 02/26 CURRENTLY IN EFFECT.

F0577/26

FRENCH AIR CARRIERS AND CAPTAINS OF AIRCRAFT IN CHARGE OF AIR SERVICES OPERATED BY CARRIERS HOLDING AN OPERATING LICENSE ISSUED BY FRANCE, WHETHER THEY ARE CONTRACTUAL CARRIERS AND/OR OPERATING CARRIERS, OR PERFORMING AIR SERVICES THROUGH A WET LEASE OR A CODESHARE AGREEMENT AS WELL AS FOR ANY FLIGHT MADE WITH AN AIRCRAFT REGISTERED IN FRANCE ARE REQUESTED NOT TO PENETRATE INTO THE ENTIRE AIRSPACE OF JORDAN (FIR AMMAN (OJAC

F0576/26

FRENCH AIR CARRIERS AND CAPTAINS OF AIRCRAFT IN CHARGE OF AIR SERVICES OPERATED BY CARRIERS HOLDING AN OPERATING LICENSE ISSUED BY FRANCE, WHETHER THEY ARE CONTRACTUAL CARRIERS AND/OR OPERATING CARRIERS, OR PERFORMING AIR SERVICES THROUGH A WET LEASE OR A CODESHARE AGREEMENT AS WELL AS FOR ANY FLIGHT MADE WITH AN AIRCRAFT REGISTERED IN FRANCE ARE REQUESTED NOT TO PENETRATE INTO THE ENTIRE AIRSPACE OF BAHRAIN (FIR BAHRAIN (OBBB

F0575/26
FRENCH AIR CARRIERS AND CAPTAINS OF AIRCRAFT IN CHARGE OF AIR SERVICES OPERATED BY CARRIERS HOLDING AN OPERATING LICENSE ISSUED BY FRANCE, WHETHER THEY ARE CONTRACTUAL CARRIERS AND/OR OPERATING CARRIERS, OR PERFORMING AIR SERVICES THROUGH A WET LEASE OR A CODESHARE AGREEMENT AS WELL AS FOR ANY FLIGHT MADE WITH AN AIRCRAFT REGISTERED IN FRANCE ARE REQUESTED NOT TO PENETRATE INTO THE ENTIRE AIRSPACE OF KUWAIT (FIR KUWAIT (OKAC)).

F0573/26
FRENCH AIR CARRIERS AND CAPTAINS OF AIRCRAFT IN CHARGE OF AIR SERVICES OPERATED BY CARRIERS HOLDING AN OPERATING LICENSE ISSUED BY FRANCE, WHETHER THEY ARE CONTRACTUAL CARRIERS AND/OR OPERATING CARRIERS, OR PERFORMING AIR SERVICES THROUGH A WET LEASE OR A CODESHARE AGREEMENT AS WELL AS FOR ANY FLIGHT MADE WITH AN AIRCRAFT REGISTERED IN FRANCE ARE REQUESTED NOT TO PENETRATE INTO THE ENTIRE AIRSPACE OF LEBANON (FIR BEIRUT (OLBB)).

F0574/26
FRENCH AIR CARRIERS AND CAPTAINS OF AIRCRAFT IN CHARGE OF AIR SERVICES OPERATED BY CARRIERS HOLDING AN OPERATING LICENSE ISSUED BY FRANCE, WHETHER THEY ARE CONTRACTUAL CARRIERS AND/OR OPERATING CARRIERS, OR PERFORMING AIR SERVICES THROUGH A WET LEASE OR A CODESHARE AGREEMENT AS WELL AS FOR ANY FLIGHT MADE WITH AN AIRCRAFT REGISTERED IN FRANCE ARE REQUESTED NOT TO PENETRATE INTO THE ENTIRE AIRSPACE OF QATAR (FIR DOHA (OTDF)).

F0571/26
FRENCH AIR CARRIERS AND CAPTAINS OF AIRCRAFT IN CHARGE OF AIR SERVICES OPERATED BY CARRIERS HOLDING AN OPERATING LICENSE ISSUED BY FRANCE, WHETHER THEY ARE CONTRACTUAL CARRIERS AND/OR OPERATING CARRIERS, OR PERFORMING AIR SERVICES THROUGH A WET LEASE OR A CODESHARE AGREEMENT AS WELL AS FOR ANY FLIGHT MADE WITH AN AIRCRAFT REGISTERED IN FRANCE ARE REQUESTED NOT TO PENETRATE INTO THE ENTIRE AIRSPACE OF IRAQ (FIR BAGHDAD (ORBB)).
THIS NOTAM SUPERSEDES THE RESTRICTIONS CONCERNING IRAQ AIRSPACE (FIR BAGHDAD (ORBB)) ISSUED IN PARAGRAPH 3.2 IRAQ OF THE AIC NR 02/26 CURRENTLY IN EFFECT.

F0572/26
FRENCH AIR CARRIERS AND CAPTAINS OF AIRCRAFT IN CHARGE OF AIR SERVICES OPERATED BY CARRIERS HOLDING AN OPERATING LICENSE ISSUED BY FRANCE, WHETHER THEY ARE CONTRACTUAL CARRIERS AND/OR OPERATING CARRIERS, OR PERFORMING AIR SERVICES THROUGH A WET LEASE OR A CODESHARE AGREEMENT AS WELL AS FOR ANY FLIGHT MADE WITH AN AIRCRAFT REGISTERED IN FRANCE ARE REQUESTED NOT TO PENETRATE INTO THE ENTIRE AIRSPACE OF UNITED ARAB EMIRATES (FIR EMIRATES (OMAE

F0569/26
FRENCH AIR CARRIERS AND CAPTAINS OF AIRCRAFT IN CHARGE OF AIR SERVICES OPERATED BY CARRIERS HOLDING AN OPERATING LICENSE ISSUED BY FRANCE, WHETHER THEY ARE CONTRACTUAL CARRIERS AND/OR OPERATING CARRIERS, OR PERFORMING AIR SERVICES THROUGH A WET LEASE OR A CODESHARE AGREEMENT AS WELL AS FOR ANY FLIGHT MADE WITH AN AIRCRAFT REGISTERED IN FRANCE ARE REQUESTED NOT TO PENETRATE INTO THE ENTIRE AIRSPACE OF IRAN (FIR TEHRAN (OIIX)).
THIS NOTAM SUPERSEDES THE RESTRICTIONS CONCERNING IRAN AIRSPACE (FIR TEHRAN (OIIX)) ISSUED IN PARAGRAPH 3.14 IRAN OF THE AIC NR 02/26 CURRENTLY IN EFFECT.

P1118/26
TOP OF OBSTACLE NR E7205 (2 WINDTURBINES OUT OF 2) **U/S** :
RDL 354/13.5NM LFRM ARP
PSN : 480754N 0000030E
HEIGHT : 590FT
ELEV : 974FT.

P1088/26
PYLON NR 02001 LIGHTING **U/S** :
- PSN : 495143N - 0040055E
- ELEVATION : 1404FT
- HEIGHT : 666FT.

P1087/26
OBSTACLE NR 02001 (PYLON) LGT **U/S** :
- PSN : 495143N 0040055E
- ELEV : 1404FT
- HEIGHT : 666FT.

P1065/26
PYLON 10002 LGT **U/S** (RDL184/5.1NM LFFR)
PSN : 475855.52N 0042408.73E
HGT : 738FT
ELEV : 1850FT

P1035/26
WINDTURBINE E6007-14 LIGHTS **U/S**
RDL 097/8.1NM LFOB BEAUVAIS TILLE
- PSN : 492613N 0021908E
- ELEV : 725FT
- HGT : 410FT

P1024/26
WINDTURBINE NR E6011-2 LIGHTING **U/S** :
- PSN : 492941N 0022734E
- ELEV : 890FT
- HEIGHT : 414FT

P1006/26
OBSTACLE NR E4503 LGT **U/S** (2 WIND TURBINES OUT OF 5)
RDL 119/10.6NM LFOC ARP
WIND TURBINES : E4503-4 AND E4503-5
MEAN PSN : 475815N 0013618E
HGT : 410FT AGL
ELEV : 814FT AMSL.

P0993/26
WINDFARM NR E1008 (RDL 323/12NM LFQB) LGT **U/S** (8 WINDTURBINES OUT OF 47) :
- MEAN PSN : 482901.30N 0034958.69E
- MAX HGT : 492FT
- MAX ELEV : 807FT.

P0952/26
OBST MAST NR 80137 LIGHTING **U/S** :
- PSN : 495429N 0020441E
- HEIGHT : 403FT
- ELEVATION : 784FT.

P0941/26
OBSTACLES E2815-2 AND E2815-4 LIGHTS **U/S** (2 WINDTURBINES OUT OF 6) - RDL010/8.15NM LFOR ARP :
-PSN : 481929N 0012912E
-HEIGHT : 410FT
-ELEV : 899FT.

P0929/26
WIND TURBINE E5144-8 (RDL271/4.3NM ARP LFQK) LGT **U/S** :
- AVG PSN : 485423.48N 0041441.58E
- MAX HGT : 588FT
- MAX ELEV : 1006FT.

P0911/26
WINDTURBINE E0207-2 LIGHTS **U/S** :
-PSN : 494520N 0032349E
-ELEV : 741FT
-HEIGHT : 410FT.

P0908/26
WINDTURBINE E280D-12 LGT **U/S** - RDL125/13NM LFOR :
-PSN : 482007.52N 0014727.36E
-HGT : 388FT
-ELEV : 877FT.

P0905/26
OBSTACLE NR E2814-6 LIGHTS **U/S** :
-RDL326/33.44NM LFOZ
RDL131/6.3NM LFOR
-PSN : 482325N 0013834E
-HEIGHT : 410FT
-ELEV : 912FT.

P0902/26
WIND TURBINE E1001-10 LIGHTING **U/S** - RDL 218/11.2NM LFOK ARP :
- PSN : 483743.76N 0040153.49E
- HEIGHT : 413FT
- ELEVATION : 876FT.

P0892/26
WIND TURBINE NR E5208-8 LIGHTS **U/S** - RDL239/7.3NM LFFJ ARP :
-PSN : 481921.37N 0045906.56E
-HEIGHT : 397FT
-ELEV : 1588FT.

P0812/26
OBSTACLE NR 76168 LGT **U/S**
RDL 172/11.51 NM LFAE ARP
PSN 495237N 0012757E
HGT 404FT AGL
ELEV 833FT AMSL

P0785/26
OBSTACLE NR E280D-7 LIGHTING **U/S** (1 WINDTURBINE OUT OF 29) :
- RDL 155/11.74NM LFFL ARP
- PSN : 482011.06N 0014542.41E
- HEIGHT : 388FT
- ELEV : 874FT.

P0681/26
OBST NR E6205 LIGHTING **U/S** - RDL 214/11.3NM ARP LFIS :
- PSN : 504337N 0013420E
- HEIGHT : 541FT
- ELEVATION : 564FT.

F0321/26
RUSSIA AND BELARUS RESTRICTIONS :
1- ALL AIRCRAFT REGISTERED IN RUSSIA OR OPERATED BY RUSSIAN AIR CARRIERS, INCLUDING AS A MARKETING CARRIER IN CODE-SHARING OR BLOCKED-SPACE ARRANGEMENTS OR OWNED, CHARTERED OR OPERATED BY A RUSSIAN NATURAL OR LEGAL PERSON, ENTITY OR BODY ARE PROHIBITED TO LAND IN, TAKE OFF FROM OR OVERFLY THE FRENCH SOVEREIGN AIRSPACE EXCEPT IN CASE OF EMERGENCY LANDING OR EMERGENCY OVERFLIGHT AND EXCEPT FOR FLIGHTS HOLDING A PERMISSION DELIVERED IN ACCORDANCE WITH THE APPROPRIATE EU REGULATION BY THE FRENCH AUTHORITIES
2- ALL AIRCRAFT OPERATED BY BELARUSIAN AIR CARRIERS, INCLUDING AS A MARKETING CARRIER IN CODE-SHARING OR BLOCKED-SPACE ARRANGEMENTS, ARE PROHIBITED TO LAND IN, TAKE OFF FROM OR OVERFLY THE FRENCH SOVEREIGN AIRSPACE
EXCEPT IN CASE OF EMERGENCY LANDING OR EMERGENCY OVERFLIGHT AND EXCEPT FOR FLIGHTS HOLDING A PERMISSION DELIVERED IN ACCORDANCE WITH THE APPROPRIATE EU REGULATION BY THE FRENCH AUTHORITIES
3- IT SHALL BE PROHIBITED TO PARTICIPATE, KNOWINGLY AND INTENTIONALLY, IN ACTIVITIES THE OBJECT OR EFFECT OF WHICH IS TO CIRCUMVENT THESE PROHIBITIONS.

P0645/26
MODIFICATION COORDONNEES TOUR 53014 A PRE-EN-PAIL-ST-SAMSON
RDL 271/10.33NM ARP LFOF ALENCON-VALFRAMBERT
PSN: 482657N 0000903.49W
HAUT: 201FT
ALT AU SOMMET: 1546FT
BALISAGE: NIL
REF AIP FRANCE DATASET ENR 5.4

P0599/26
OBSTACLE NR 45011 LIGHTING **U/S** - RDL 262/1.5NM HSPS ARP :
- PSN : 475605N 0015023E
- HEIGHT : 240FT
- ELEVATION : 663FT.

P0555/26
WINDTURBINE E0214-11 LIGHTING **U/S** :
- PSN : 495556N 0034134E
- HEIGHT : 493FT
- ELEVATION : 992FT.

P0366/26
WINDTURBINE E8092-6 LIGHTING **U/S** :
PSN : 495023N 0024637E
ELEV : 787FT
HEIGHT : 492FT.

P0359/26
WINDTURBINE E760H-5 LGT **U/S** RDL 002/9.75NM LFFY:
PSN: 492805.54N 0013845.32E
HGT 410FT
ELEV 1148FT

P0069/26
OBST NR 59096 LIGHTING **U/S** - RDL 007/10NM LFQT ARP :
- PSN : 504657.79N 0024016.17E
- HEIGHT : 690FT
- ELEVATION : 1250FT.

P0045/26
OBST NR 18005 (PYLON) LGT **U/S** - RDL140.5/14.7NM LFEH ARP:
- PSN: 471726.35N 0023726.78E
- HGT: 758FT
- ELEV: 2100FT

P0016/26
WINDFARM E7201 AT 'JUILLE' (72) : WINTURBINES E7201-5 E7201-6
LGT **U/S** RDL175/11.6NM LFOF
E7201-5 : 481514.92N 0000810.33E
E7201-6 : 481506.39N 0000752.95E
HGT : 476FT
ELEV : 768FT

F1774/25
VFR PROHIBITED ABOVE FL115 WITHIN SECTORS CONTROLLED BY PARIS CTL EXC FOR SPECIAL ACT AUTHORIZED BY PARIS CTL.

F1665/25
EUROCONTROL LOGON LIST FUNCTIONALITY SET UP FOR THE EN-ROUTE CENTRES OF BORDEAUX ACC, BREST ACC, MARSEILLE ACC, PARIS ACC AND REIMS ACC.
ONLY AIRCRAFT VALIDATED BY EUROCONTROL IN THE LOGON LIST CAN CONNECT TO THE CPDLC SERVICES OF THESE ACC.

F1418/25
DUE TO A TECHNICAL UPDATE,SOME PHONE NUMBERS OF THE
'CINQ-MARS-LA-PILE' CTL AND DETECTION CENTER '(CDC)' ARE CHANGING.
ONLY THE FLW PHONE NUMBERS HAVE TO BE USED :
'CSCAM': +33 2.45.34.16.02 (862 927 1602)
'BIV': +33 2.45.34.16.03 (862 927 1603)
'MC': +33 2.45.34.16.05 (862 927 1605) AND +33 2.45.34.16.06 (862 927 1606)
'TPO': +33 2.45.34.16.09 (862 927 1609)
'OMC': +33 2.45.34.16.10 (862 927 1610)
'FA': +33 2.45.34.16.11 (862 927 1611)
'OPS MANAGER' : +33 2.45.34.14.00 (862 927 1400)
'CDC CINQ MARS LA PILE POC' : +33 2 45 34 28 63
H0214/25
CREATION OF 'HELISTATION AIR TOURAINE'
AT NEUVY LE ROY
PSN : 473450N 0003618E
ALTITUDE : 310FT
AXIS : 070/250
FATO = TLOF (3.6T) : 20 X 20M
LGT : NIL
REF **AD** 1.3
F0627/25
APPLICATION OF THE NEW EUROPEAN REGULATION IR SERA 2024/404 IN FORCE
ON MAY 1ST, 2025 WITH THE INTRODUCTION OF POINT SERA.14083
RELATING TO PROCEDURES IN CASE OF RADIO COMMUNICATION FAILURE.
MODIFICATION OF RADIO FAILURE PROCEDURE : INTRODUCTION OF THE NEW EMERGENCY CODE 7601 AND MODIFICATION OF THE 7-MINUTE RULE TO 20 MINUTES.
REF AIP ENR1.1
F0311/25
TRIGGER NOTAM - AIRAC AIP SUP 024/25.
CREATION OF 5 TRANSPONDER MANDATORY ZONES (TMZ) ASSOCIATED TO TOURS VAL DE LOIRE **AD** (LFOT).
THIS AIP SUP IS **AVBL** AT WWW.SIA.AVIATION-CIVILE.GOUV.FR
F0441/25
TRIGGER NOTAM - AIP SUP 037/25
CREATION OF EXPERIMENTAL TRANSIT CORRIDORS FOR OVERFLIGHTS OF THE 'PARC NATIONAL DE FORETS NR 021'
THIS AIP SUP IS **AVBL** AT WWW.SIA.AVIATION-CIVILE.GOUV.FR

++++++++++++++++++++++++++++ WAYPOINT ++++++++++++++++++++++++++++

F0251/26
TRIGGER NOTAM - AIRAC AIP SUP 016/26 :
AMENDMENT OF THE AIP FRANCE SECTION ENR 6.2 MAP WITH THE IMPLEMENTATION OF THE FRANCE FRA NORD CELL (LFFRAN).
THIS AIP SUP IS **AVBL** AT WWW.SIA.AVIATION-CIVILE.GOUV.FR
F0244/26
FRANCE FREE ROUTE AIRSPACE - NORTH EAST CELL (LFFRANE) - SIGNIFICANT POINT BELOW FRA FUNCTION MODIFIED.
READ :
-ENORI=FRA(AI): LFFRANE, LFPG, FL195-660
-REF AIP ENR 4.4
F0117/26
VOR 'BNE' 113.800MHZ **U/S** DUE TO FAILURE

F1805/25
FRANCE FREE ROUTE AIRSPACE - NORTH EAST CELL (LFFRANE) -
SIGNIFICANT POINT BELOW FRA FUNCTIONS MODIFIED.
READ :
- OKRIX= FRA(ID) : LFFRANE, LFLA, LFOK, LFQB, LFQA, LFSI, LFOA,
LFQG, LFLD, LFOJ, LFOZ, LFLC, LFLV, FL195-660
- REF AIP ENR 4.4

++++++++++++++++++++++ RESTRICTED AIRSPACE ++++++++++++++++++++++

R0927/26
LF-R6 B C D E 'MAILLY' **ACTIVATED**.
F) 2000FT AGL G) FL195
R0963/26 VALID: 30-MAR-26 0730 - 30-MAR-26 2100
LF-CBA 16B ACT.
F) FL065 G) FL115
R0964/26
AREA LF-D82 'BAIE DE SEINE' ACT :
ACTUAL ACT KNOWN BY :
. BREST CTL 127.385MHZ
. RENNES INFO 134.200MHZ AND 120.350MHZ
. PARIS CTL 128.875MHZ.
F) SFC G) FL195
R0751/26
TRIGGER NOTAM - AIP SUP 044/26 :
CREATION OF A TEMPORARY RESTRICTED AREAS ('ZRT
MONTCEAU-LES-MINES-LA GUICHE') FOR UNMANNED ACFT OUT OF SIGHT
DAYTIME FLIGHTS IN 'SAONE ET LOIRE'.
THIS AIP SUP IS **AVBL** AT WWW.SIA.AVIATION-CIVILE.GOUV.FR
F) SFC G) 330FT AGL
R0936/26
TRIGGER NOTAM - AIP SUP 094/25 :
PARACHUTING WITH CANOPY DRIFTING IN THE ROMORANTIN AREA REQUIRING
THE CREATION OF 4 TEMPORARY RESTRICTED AREAS.
ACTIVITY FORECAST BY NOTAM WITH PPR 48HR.
THIS AIP SUP IS **AVBL** AT WWW.SIA.AVIATION-CIVILE.GOUV.FR
F) SFC G) FL285
R0446/26
TRIGGER NOTAM - AIRAC AIP SUP 023/26 :
CREATION OF TWO TEMPORARY RESERVED AREAS (TRA) IN UIR, TRA90NL AND
TRA90NH, AND ASSOCIATED FBZ.
THIS AIP SUP IS **AVBL** AT WWW.SIA.AVIATION-CIVILE.GOUV.FR
F) FL195 G) FL335

R0564/26

TEMPORARY RESTRICTED AREA (ZRT) 'ZRT SOMME 2' :
-DESCRIPTION :
-UNMANNED ACFT FLIGHTS, BEYOND VISUAL LINE OF SIGHT,
-ZRT MAY BE **ACTIVATED** H24 WITH A 24HR PN,
-ZRT CENTRE : RDL302/8.5NM LFOI ARP
1-LATERAL LIMITS :
501654N 0013537E
501457N 0014121E
501012N 0014150E
501040N 0013207E
501654N 0013537E
2-VERTICAL LIMITS :
SR-30 / SS+30 : 500FT ASFC
SS+30 / SR-30 : 1500FT AMSL
3-STATUS :
TEMPORARY RESTRICTED AREA (ZRT) REPLACES THE OVERLAPPING AIRSPACE PARTS, EXCEPT RESTRICTED AREA LF-R400D 'DEP HOURDEL'.
4-SERVICES PROVIDED :
FLIGHT INFORMATION AND ALERT ARE PROVIDED BY 'LILLE INFO'.
5-OAT/GAT ENTRY CONDITIONS :
COMPULSORY AREA AVOIDANCE DURING ZRT ACTIVITY EXCEPT FOR :
-ACFT INVOLVED IN THE EXERCISE,
-AERIAL-WORK COMPANIES ACFT WITH A SPECIAL PERMISSION FROM FLIGHT HEIGHT RESTRICTIONS FOR ESSENTIAL OPERATIONS AFTER COORDINATION WITH THE RELEVANT AUTHORITY,
-ACFT ON MIL, CUSTOMS, POLICE, SEARCH AND RESCUE, FIREFIGHTING, MEDICAL TRANSPORT OPERATIONS WHEN FORCED TO ENTER THE AREA AFTER COORDINATION WITH THE RELEVANT AUTHORITY.
6-RELEVANT AUTHORITY :
-'COMFAG'
-PHONE : +33 630 089 289
: +33 145 373 137 / +33 145 373 139
7-INFO :
ACTUAL TIMES OF ACTIVITY ANNOUNCED ON 'LILLE INFO' 132.540MHZ
F) SFC G) 1500FT AMSL

R0566/26
TEMPORARY RESTRICTED AREA (ZRT) 'ZRT SOMME 1' :
-DESCRIPTION :
-UNMANNED ACFT FLIGHTS, BEYOND VISUAL LINE OF SIGHT,
-ZRT MAY BE **ACTIVATED** H24 WITH A 24HR PN,
-ZRT CENTRE : RDL195/17NM LFAT ARP
1-LATERAL LIMITS :
500803N 0012616E
502318N 0013347E
502136N 0013816E
500736N 0013008E
500803N 0012616E
2-VERTICAL LIMITS :
SR-30 / SS+30 : SFC / 500FT ASFC
SS+30 / SR-30 : SFC / 1500FT AMSL
3-STATUS :
TEMPORARY RESTRICTED AREA (ZRT) REPLACES THE OVERLAPPING AIRSPACE PARTS, EXCEPT RESTRICTED AREAS LF-R400E 'DEP AULT' AND LF-R400D 'DEP HOURDEL' (SUP AIP 215/25).
4-SERVICES PROVIDED :
FLIGHT INFORMATION AND ALERT ARE PROVIDED BY 'LILLE INFO'.
5-OAT/GAT ENTRY CONDITIONS :
COMPULSORY AREA AVOIDANCE DURING ZRT ACTIVITY EXCEPT FOR :
-ACFT INVOLVED IN THE EXERCISE,
-AERIAL-WORK COMPANIES ACFT WITH A SPECIAL PERMISSION FROM FLIGHT HEIGHT RESTRICTIONS FOR ESSENTIAL OPERATIONS AFTER COORDINATION WITH THE RELEVANT AUTHORITY
-ACFT ON MIL, CUSTOMS, POLICE, SEARCH AND RESCUE, FIREFIGHTING, MEDICAL TRANSPORT OPERATIONS WHEN FORCED TO ENTER THE AREA AFTER COORDINATION WITH THE RELEVANT AUTHORITY.
6-RELEVANT AUTHORITY :
-'COMFAG'
-PHONE : +33 630 089 289
PHONE : +33 145 373 137 / +33 145 373 139
7-INFO :
ACTUAL TIMES OF ACTIVITY ANNOUNCED ON 'LILLE INFO' 132.540MHZ
F) SFC G) 1500FT AMSL

R0704/26
MAR 12 13 16-20 23-27 30 31 APR 01-03 SR-SS
RESTRICTED AREA LF-R602 'ABLIS' **ACTIVATED**
ACTUAL ACTIVITY ANNOUNCED ON 'PARIS INFO' 126.100MHZ OR 129.625MHZ. F) SFC G) 2500FT AMSL

R0441/26
TRIGGER NOTAM - AIP SUP 018/26 :
CREATION OF A TEMPORARY RESTRICTED 'ZRT DRONE COURTALAIN' DUE TO OUT OF SIGHT UNMANNED ACFT FLIGHTS IN 'CENTRE' REGION ACTIVABLE BY NOTAM WITH 48HR NOTICE.
THIS AIP SUP IS **AVBL** AT WWW.SIA.AVIATION-CIVILE.GOUV.FR
F) SFC G) 500FT AGL

R0445/26
TRIGGER NOTAM - AIP SUP 022/26 :
CREATION OF A TEMPORARY RESTRICTED AREA 'ZRT CUIRASSIER' IN THE ORLEANS BRICY REGION.
THE ZRT CAN BE **ACTIVATED** BY NOTAM WITH NOTICE OF 48HR.
THIS AIP SUP IS **AVBL** AT WWW.SIA.AVIATION-CIVILE.GOUV.FR
F) SFC G) 2100FT AMSL

R0444/26
TRIGGER NOTAM - AIP SUP 021/26 :
CREATION OF A TEMPORARY RESTRICTED AREA 'ZRT ARGENTAN' FOR UNMANNED AIRCRAFTS SURVEYS, OPERATING OUT OF SIGHT, IN THE ARGENTAN AREA (A88 FREEWAY).
ZRT ACTIVABLE BY NOTAM WITH 10 DAYS NOTICE.
THIS AIP SUP IS **AVBL** AT WWW.SIA.AVIATION-CIVILE.GOUV.FR
F) SFC G) 400FT AGL

R0034/26
NO-FLY ZONE NR660 'CLAIRVAUX' DETENTION CENTRE **WITHDRAWN**
PSN : 480900N 0044700E
F) SFC G) 3300FT AGL

W2675/25
MODEL FLYING ACTIVITY N8071 SAINT FLORENTIN CHEU AERODROME **WITHDRAWN**
PSN: 475920N 0034605E
REF AIP FRANCE ENR 5.5
F) SFC G) 500FT AGL

W2676/25
MODEL FLYING ACTIVITY N8212 SOUCY (89) **WITHDRAWN**
PSN: 481421N 0031725E
REF AIP FRANCE ENR 5.5
F) SFC G) 1300FT AMSL

W2677/25
MODEL FLYING ACTIVITY N8542 VONCQ (08) **WITHDRAWN**
PSN: 492739N 0044003E
REF AIP FRANCE ENR 5.5
F) SFC G) 800FT AMSL

R3088/25
TRIGGER NOTAM - AIP SUP 205/25 :
SPECIAL AVIATION SECURITY MEASURES ABOVE THE PARIS REGION REQUIRING THE CREATION OF 2 TEMPORARY RESTRICTED AREAS ('ZRT PO ALPHA' AND 'ZRT PO BRAVO').
THE 'ZRT' CAN BE **ACTIVATED** BY NOTAM WITH 72HR PRIOR NOTICE.
THIS AIP SUP IS **AVBL** AT WWW.SIA.AVIATION-CIVILE.GOUV.FR
F) FL205 G) FL225

R3164/25
TRIGGER NOTAM - AIP SUP 212/25 :
CREATION OF A TEMPORARY RESTRICTED AREA (ZRT HIRSON) FOR DAY AND NIGHT OUT-OF-SIGHT UNMANNED FLIGHTS, IN THE HAUTS DE FRANCE AREA.
THIS AIP SUP IS **AVBL** AT WWW.SIA.AVIATION-CIVILE.GOUV.FR
F) SFC G) 400FT AGL

R3166/25
TRIGGER NOTAM - AIP SUP 214/25 :
DAILY AND NIGHTLY OUT OF SIGHT UNMANNED ACFT FLIGHTS IN THE 'HAUTS DE FRANCE' AREA REQUIRING THE CREATION OF A TEMPORARY RESTRICTED AREA ('ZRT AIRGHT').
THIS AIP SUP IS **AVBL** AT WWW.SIA.AVIATION-CIVILE.GOUV.FR
F) SFC G) 400FT AGL

R3167/25
TRIGGER NOTAM - AIP SUP 215/25 :
CREATION OF 14 TEMPORARY RESTRICTED AREAS (ZRT) AND 4 TEMPORARY **DANGER** AREAS (ZDT) FOR UNMANNED AIRCRAFT FLYING OUT OF SIGHT OVER THE EASTERN CHANNEL AND THE ENGLISH CHANNEL STRAIT.
THIS AIP SUP IS **AVBL** AT WWW.SIA.AVIATION-CIVILE.GOUV.FR
F) SFC G) 1500FT AMSL

W2579/25
MODEL FLYING ACTIVITY AT 'DAMMARTIN-EN-SERVE' (78)
- RDL 194/10.1NM ARP LFFC
- RDL 291/11.9NM ARP LFPF
- PSN : 485451N 0013740E
- UPPER LIMIT : 1000FT AGL (1400FT AMSL)
- SKED : SR-SS
REF AIP FRANCE ENR 5.5
F) SFC G) 1400FT AMSL

W2578/25
MODEL FLYING ACTIVITY AT 'BARZY-SUR-MARNE' (02)
- RDL 079/7.6NM ARP LFFH :
- PSN : 490525N 0033246E
- SKED : 0800-1800 (SUMMER -1HR)
- BY DAY ONLY
REF AIP FRANCE ENR 5.5
F) SFC G) 400FT AGL

W2571/25
MODEL FLYING ACTIVITY AT 'ELETOT'
- RDL 252/8NM ARP LFOS :
- PSN : 494718N 0002607E
- SKED : SR-SS
- SLOPE FLYING
REF AIP FRANCE ENR 5.5
F) SFC G) 200FT AGL

R2399/25
TEMPO PROHIBITED AREA (ZIT) 'SUIPPES MOURMELON 1' - ANTI DRONE STRUGGLE :
1. LATERAL LIMITS :
SAME AS LF-R175A 'SUIPPES' (REF AIP ENR 5.1)
2. STATUS :
ZIT WHICH COEXISTS WITH OVERLAPPING AIRSPACES, EXCLUDING LF-R503 MOURMELON STAT WHEN **ACTIVATED**.
3. ENTRY CONDITIONS :
- ENTRY PROHIBITED TO ANY UNMANNED ACFT, EXC UNMANNED ACFT PERFORMING MIL, CUSTOMS, POLICE, SEARCH AND RESCUE, FIRE-FIGHTING OR MEDICAL TRANSPORTATION ACT WHEN FORCED TO ENTER.
- EXEMPTION SUBMITTED TO MANAGER AGREEMENT WITH PN 05 DAYS.
4. PROVIDED SERVICES :
SERVICES ARE PROVIDED IN ACCORDANCE WITH AIRSPACES CLASSES WITH WHICH ZIT COEXISTS.
5. AUTHORITY TO CONTACT :
- 51RI / PC TIR
- TEL : +333.26.67.81.00
F) SFC G) 500FT AGL

R2488/25
TEMPO PROHIBITED AREA (ZIT) 'SUIPPES MOURMELON 2' - ANTI DRONE FIGHTS :
1. LATERAL LIMITS :
490752N 0042227E,
0.8NM RADIUS CLOCKWISE ARCUS CENTRED ON 490801N 0042112E,
490810N 0042000E,
490752N 0042227E.
2. STATUS :
ZIT WHICH COEXISTS WITH OVERLAPPING AIRSPACES, EXCLUDING LF-R503 'MOURMELON STAT' WHEN **ACTIVATED**.
3. ENTRY CONDITIONS :
- ENTRY PROHIBITED TO ANY UNMANNED ACFT, EXC UNMANNED ACFT PERFORMING MIL, CUSTOMS, POLICE, SEARCH AND RESCUE, FIRE-FIGHTING OR MEDICAL TRANSPORTATION ACT WHEN FORCED TO ENTER.
- EXEMPTION SUBMITTED TO MANAGER AGREEMENT WITH PN 05 DAYS
4. PROVIDED SERVICES :
SERVICES ARE PROVIDED IN ACCORDANCE WITH AIRSPACES CLASSES WITH WHICH ZIT COEXISTS.
5. AUTHORITY TO CONTACT :
- 51RI / PC TIR
- TEL : +333.26.67.81.00
F) SFC G) 500FT AGL

R2569/25
TEMPO PROHIBITED AREA (ZIT) 'MAILLY' - ANTI DRONE MEASURES :
1. LATERAL LIMITS :
SAME AS LF-R6A (REF AIP ENR 5.1)
2. STATUS :
'ZIT' WHICH COEXISTS WITH OVERLAPPING AIRSPACES
3. ENTRY CONDITIONS :
- ENTRY PROHIBITED TO ANY UNMANNED ACFT, EXC UNMANNED ACFT IN STATE MISSION (DEFENCE, 'GENDARMERIE', POLICE, CUSTOM, RFFS, CIVIL SAFETY AND RESCUE)
- EXEMPTION SUBMITTED TO MANAGER AGREEMENT WITH PN 05 OPENING DAYS
4. PROVIDED SERVICES :
SERVICES ARE PROVIDED IN ACCORDANCE WITH PARTS OF AIRSPACES CLASSE WITH WHICH 'ZIT' COEXISTS
5. AUTHORITY TO CONTACT (MANAGER) :
- CENTAC MAILLY
- TEL : +333 10 10 81 75 OR +333 10 10 82 22 OR +336 72 28 64 93.
F) SFC G) 500FT AGL

R2474/25
TRIGGER NOTAM - AIP SUP 176/25 MODIFIED :
OUT-OF-SIGHT UNMANNED FLIGHTS WITHIN THE SOUTHERN REGION OF 'CHARTRES', REQUIRING THE CREATION OF A TEMPORARY RESTRICTED AREA ('ZRT DRONE').
ZRT ACTIVABLE BY NOTAM WITH A MINIMUM OF 48HR NOTICE.

MODIFICATION :
ADD, IN 'LATERAL LIMITS' ITEM, THE COORDINATES 481902N 0015055E, AT THE END OF THE COORDINATES

THIS AIP SUP IS **AVBL** AT WWW.SIA.AVIATION-CIVILE.GOUV.FR
F) SFC G) 500FT AGL

R2497/25
ZONE LF-R574 A AUVOURS MODIFIED (REF AIP FRANCE ENR 5.1):
HOURS MODIFIED : POSSIBLE ACTIVATION H24
F) SFC G) FL055

R2501/25

TEMPORARY RESTRICTED AREA ('ZRT') 'LF-R-574 C TEMP AUVOURS' FOR DEFENCE ACT, OUT OF VIEW STATE DRONE FLT
ZRT CENTER : RDL 065/7NM LFRM ARP
1 - LATERAL LIMITS :
480023N 0002101E
480023N 0002148E
475917N 0002148E
475917N 0002101E
480023N 0002101E
EXC LF-R574 A AUVOURS WHEN **ACTIVE**
2 - STATUS : TEMPORARY RESTRICTED AREA'LF-R-574 C TEMP AUVOURS' WHEN **ACTIVE**, REPLACES OVERLAPING AIRSPACE PARTS.
3 - PROVIDED SERVICES :
FLIGHT INFORMATION AND ALERT PROVIDED BY USUAL ORGANISMS
4 - OAT/GAT ENTRY CONDITIONS :
COMPULSORY AREA AVOIDANCE DURING ACT EXCEPT FOR :
- ACFT AUTHORISED BY MANAGER
- ACFT ON MIL, CUSTOMS, POLICE, SEARCH AND RESCUE, FIREFIGHTING, MEDICAL TRANSPORT OPERATIONS WHEN FORCED TO ENTER AREA, AFTER COORDINATION WITH MANAGER (+33 2 43 54 62 38 OR +33 2 43 54 62 42). 5 - MANAGER - AUHTORITY TO BE CONSULTED :
2 EME RIMA : +33 2 43 54 62 38 OR +33 2 43 54 62 42
6 - REAL ACT KNOWN BY
- MANAGER : +33 2 43 54 62 38 (ANSWERING DEVICE OUTSIDE OPENING HOURS)
- NANTES INFO : 130.275MHZ
- SEINE INFO : 127.815MHZ
- LE MANS INFO : 125.905MHZ
F) SFC G) FL055

R2339/25
TRIGGER NOTAM - AIP SUP 091/24 MODIFIED :
CREATION OF 94 TEMPORARY RESTRICTED AREAS ('ZRT') AND OF 4
TEMPORARY DANGEROUS AREAS ('ZDT'). THESE AREAS WILL BE **ACTIVATED**
BY NOTAM.

MODIFICATIONS :
1)PAGE 1
RELEVANT AUTHORITIES CONTACT DETAILS DURING OPERATION :
MIL CTL AND REPORTING CENTRE (CRC) OF CINQ-MARS-LA-PILE - PHONE :
+33 2 45 34 15 67
MIL CTL AND REPORTING CENTRE (CRC) OF MONT DE MARSAN : WITHOUT ANY
CHANGE
'EACA ROISSY' : WITHOUT ANY CHANGE
2)PAGE 18
ADD 'ZRT COTENTIN HIGH' :
-LATERAL LIMITS :
500000N 0010706W
500000N 0005922W
491619N 0005714W
491637N 0010525W
500000N 0010706W
-VERTICAL LIMITS :
FL205/FL215
-ACTUAL TIME SLOTS PROVIDED BY :
BREST CTL (SECTEUR JS) : 127.385MHZ

THIS AIP SUP IS **AVBL** AT WWW.SIA.AVIATION-CIVILE.GOUV.FR
F) FL095 G) FL215

R2096/25
TRIGGER NOTAM - AIP SUP 159/25 : WEAPON AIRCRAFT TRAINING
REQUIRING
THE CREATION, ON AN EXPERIMENTAL BASIS, OF 3 TEMPORARY RESTRICTED
AREAS IN THE SAINT-DIZIER REGION.
THIS AIP SUP IS **AVBL** AT WWW.SIA.AVIATION-CIVILE.GOUV.FR
F) FL065 G) FL195

R1851/25
TEMPORARY RESTRICTED AREA (ZRT) OVER 'LE DOMAINE DE CHAMBORD'
1. LATERAL LIMITS :
1NM RADIUS CIRCLE CENTRED ON 473702N 0013106E
EXCEPT AREA LF-R149A WHEN **ACTIVATED**
2. STATUS :
ZRT REPLACES THE OVERLAPPING AIRSPACE PARTS.
3. SERVICES PROVIDED :
FLIGHT INFORMATION AND ALERT PROVIDED BY SEINE INFO OR PARIS INFO
4. GAT/OAT ENTRY CONDITIONS : MOTOR-PROPELLED ACFT :
COMPULSORY AREA AVOIDANCE EXCEPT FOR:
- ACFT ON MIL ACTIVITY, CUSTOMS, POLICE, RESEACH, RESCUE
,FIRE FIGHTING AND MEDICAL TRANSPORT OPERATIONS WHEN FORCED TO
ENTER THE ZRT.
- ACFT IN IFR RNP 30 PROCEDURE ON 'BLOIS LE BREUIL' **AD** (LFOQ)
- ACFT AUTHORIZED BY 'LE PREFET DU LOIR ET CHER' AFTER NOTICE OF
'DSAC OUEST' AND OF THE 'DOMAINE NATIONAL DE CHAMBORD' GENERAL
MANAGER
- MODEL FLYING ACTIVITY NR8272 'VINEUIL'
5. INFO FOR AIR USERS :
SEINE INFO 127.815MHZ (DURING ATS SKED)
PARIS INFO 129.625MHZ (OUTSIDE 'SEINE' ATS SKED)
F) SFC G) 2600FT AMSL

R1655/25
TEMPORARY RESTRICTED AREA (ZRT) CLOSE TO FORGES LES EAUX:
UNMANED ACFT FLIGHT OUT OF SIGHT
1/ LATERAL LIMITS:
4.3 NM RADIUS CIRCLE CENTRED ON 493611N 0013124E
2/STATUS:
ZRT WHICH, WHEN **ACTIVATED**, REPLACES THE OTHER OVERLAPPING AIRSPACE PARTS.
3/PROVIDED SERVICES :
FLIGHT INFORMATION AND ALERT PROVIDED BY 'LILLE INFO' OR 'BEAUVAIS INFO'
4/ OAT/GAT ENTRY CONDITIONS :
COMPULSORY AVOIDANCE DURING ACTUAL ACTIVITY EXC :
-UNMANED ACFT PARTICIPATED TO OPERATION
-ACFT PERFORMING MILITARY, CUSTOMS, POLICE, SEARCH AND RESCUE, FIRE FIGHTING, MEDICAL TRANSPORTATION OPERATIONS WHEN FORCED TO ENTER AFTER COODINATION WITH OPERATION DIRECTOR(TEL: +33 279 580 040) 5/ACTUAL ACTIVITY KNOWN BY :
LILLE INFO: 134.825MHZ
BEAUVAIS APP: 123.985MHZ
F) SFC G) 400FT AGL

W1335/25
AEROBATICS ACTIVITY NR6457 'SAINCAIZE' (58) **WITHDRAWN**
PSN : 465600N 0030400E
REF ENR5.5
F) 2500FT AGL G) 4500FT AGL

R1350/25
TRIGGER NOTAM - AIP SUP 111/25.
UNMANNED STATE ACFT OVER 'SALBRIS' AREA REQUIRING THE CREATION OF A TEMPORARY RESTRICTED AREA ('ZRT DRONES').
'ZRT' ACTIVATION BY NOTAM WITH 48HR PRIOR NOTICE.
THIS AIP SUP IS **AVBL** AT WWW.SIA.AVIATION-CIVILE.GOUV.FR
F) SFC G) 3400FT AMSL

R1172/25
TRIGGER NOTAM - AIP SUP 088/25 MODIFIED :
UAV FLIGHTS IN CHAUMONT, MAILLY, SUIPPES AND SISSONNE REGIONS REQUIRING THE CREATION OF A 5 TEMPORARY RESTRICTED AREAS.
THESE AREAS CAN BE **ACTIVATED** FROM MON 05H00 TO FRI 11H00 (SUM : -1HR) EXCEPT ON PUB HOL, BY A D-7 PRIOR NOTICE NOTAM.

--- 'ZRT TRANSIT B', HAND AMEND THE COORDINATES OF THE POINT AFTER THE FIRST ARC OF CIRCLE :
READ 483250N 0042902E INSTEAD OF 083250N 0042902E.

THIS AIP SUP IS **AVBL** AT WWW.SIA.AVIATION-CIVILE.GOUV.FR
F) FL055 G) FL125

W0904/25
AEROBATICS ACTIVITY AT 'PRE SAINT MARTIN' :
AXIS 170/350
LENGTH 2000M
CENTRED ON PSN 481243N 0012936E (RDL 026/10NM ARP LFOC CHATEAUDUN)
WINTER SKED : 0900-1100 1300-1600 (SUMMER SKED : -1HR)
USERS INFORMATION :
SEINE INFO 127.815MHZ
PARIS INFO 129.625MHZ
F) 1500FT AMSL G) 4500FT AMSL

W0928/25
SR-SS
PARAGLIDER WINCHING ACT AT 'VIENNE EN VAL' :
RDL : 196/05NM LFOZ ARP
PSN : 474858N 0020749E
(FLASHING LIGHTS ON WINCH)
F) SFC G) 2000FT AMSL

R1032/25
TRIGGER NOTAM - AIP SUP 233/24 MODIFIED :
REMOTELY PILOTED AIRCRAFT FLYING OVER FRANCE UPPER AIRSPACE
REQUIRING THE CREATION OF A TEMPORARY DANGEROUS AREA AND TEMPORARY
RESTRICTED AREAS.
THESE AREAS ARE **ACTIVATED** BY NOTAM 48HR BEFORE (ON WORKING DAY).

CORRECT FOR READ :
RELEVANT AUTHORITIES CONTACT DETAILS
'CDC LYON MONT VERDUN' (RAMBERT) : +33 4 87 65 61 99

THIS AIP SUP IS **AVBL** AT WWW.SIA.AVIATION-CIVILE.GOUV.FR
F) FL490 G) FL550

R0685/25
TRIGGER NOTAM - AIP SUP 048/25
CREATION OF 6 TEMPO RESTRICTED AREAS (ZRT) AND 5 TEMPO **DANGER**
AREAS FOR UNMANNED ACFT FLYING OUT OF SIGHT IN THE BAY OF 'SEINE'
AND 'COTENTIN', ACTIVABLE BY NOTAM WITH A 48HR PN.
THIS AIP SUP IS **AVBL** AT WWW.SIA.AVIATION-CIVILE.GOUV.FR
F) SFC G) 2000FT AMSL

W0540/25
SR-SS
MODEL FLYING ACTIVITY NR 8700 'LAMOTTE BEUVRON' MODIFIED :
NEW PSN : 473558N 0020048E (PSN DISPLACED 1000M IN THE
SOUTH-EAST). F) SFC G) 1400FT AMSL

R0609/25
TRIGGER NOTAM - AIP SUP 039/25
CREATION OF 2 TEMPO RESTRICTED AREAS FOR UNMANNED ACFT IN THE
SOUTH OF PARIS, **ACTIVATED** BY NOTAM.
THIS AIP SUP IS **AVBL** AT WWW.SIA.AVIATION-CIVILE.GOUV.FR
F) SFC G) 500FT AGL

R0682/25
TRIGGER NOTAM - AIP SUP 046/25
MIL ACTIVITIES REQUIRING THE CREATION OF 12 TEMPO RESTRICTED AREAS
(ZRT) IN THE AREA OF 'CHATEAUDUN' AND 'ORLEANS-BRICY' **AD**,
ACTIVABLE BY
NOTAM WITH 48HR PN.
THIS AIP SUP IS **AVBL** AT WWW.SIA.AVIATION-CIVILE.GOUV.FR
F) SFC G) FL065

W0155/25
SR-SS
MODEL FLYING ACTIVITY NR 8274 'SANDILLON' CHANGED :
PSN CHANGED : 474918N 0020323E
(1.2NM TO THE SOUTH-SOUTHWEST)
F) SFC G) 500FT AGL

W2942/24
SR-SS
UNMANNED AIRCRAFT (UA) ACTIVITY ABOVE 'VAUDOY EN
BRIE' FOR EXPERIMENTS
PSN : 484024N 0030441E (COLOCATED WITH MODEL FLYING ACTIVITY AEM
NR 8604 'VAUDOY EN BRIE')
RDL 031/5.4NM ARP LFAI.
F) SFC G) 1400FT AMSL

++++++++++++++++++++++++++++ ROUTE ++++++++++++++++++++++++++++++

F0301/26
TRIGGER NOTAM - PERM AIRAC AIP AMDT 03/26 WEF 19 MAR 2026.
MODIFICATION OF AWY N872 : ADDITION OF 'PITHI' POINT
F1752/25
'NORTH EAST' FRA CELL - AIRAC AIP AMDT, CHART ENR 6.2 ED2/2025 :
ADD THE FOLLOWING SEGMENTS :
AWY B3 : RLP-VUCTU / VERMA-CMB
AWY J10 : DIKOL-SUIPE
AWY L613 : VESAN-RATUK / RATUK-SOVAT
AWY L615 : LUREN-DJL
AWY N57 : EGOZE-ABB
AWY N872 : MEDIL-LESDO
AWY N873 : ADUTO-VEKIN
AWY N874 : VENOR-EGOZE / NURMO-VENOR / PERON-NURMO / SULEX-PERON /
CMB-SULEX / VEKIN-CMB
AWY Q763 : TALUD-RAPOR
AWY T22 : ABB-RATUK
AWY T37 : TRO-BOLLY / BOLLY-KASON / KASON-DJL
AWY T372 : VERMA-LESDO
AWY Y473 : LUMIL-TULNI
AWY Z110 : AMPUM-VAVOT / VAVOT-MMD
AWY Z173 : VEKIN-ARVOL
AWY Z373 : CMB-ARVOL
FOR MORE DETAILS, REFERENCE AIP FRANCE ENR 3.2.
F1751/25
'CENTER' FRA CELL - AIRAC AIP AMDT 12/25, CHART ENR 6.2 ED2/2025 :
ADD FOLLOWING SEGMENTS :
AWY A3 : MOU - OMANI / OMANI - FEDZI / FEDZI - LESPI.
FOR MORE DETAILS, REFERENCE AIP FRANCE ENR 3.2-2.
F1714/25
ADDITION OF THE SIGNIFICANT POINT 'PITHI' ON AWY N872 :
COORDINATES : 501126.5N 0033422.2E
MEDIL
204DEG 10NM FL500 FL115 PARIS/REIMS
PITHI
204DEG 25NM FL500 FL115 PARIS/REIMS
LESDO
REFERENCE AIP FRANCE ENR 3.2-56 AND ENR 4.4-25.

==========
AREA ENROUTE DEPARTURE - DESTINATION
==========

EBBU BRUSSELS FIR

Please see section EXTENDED AREA AROUND DESTINATION

LFEE REIMS FIR

++++++++++++++++++++++++++++ FIR/UIR ++++++++++++++++++++++++++++++

P1191/26
WIND TURBINE LIGHTING E5200-7 (RDL195/16.8NM LFSU) **U/S** :
PSN : 474139.89N 0051119.55E
HEIGHT : 443FT
ELEV : 1985FT

F0501/26
30 31 02 0615-0645
POSSIBLE GNSS JAMMING:
-POTENTIAL GPS RECEIVERS DISTURBANCE IN NANCY-OCHEY AREA, FROM PSN CENTRED ON BA133.
- IMPACT VOLUME: RADIUS CIRCLE 122NM CENTRED ON SUPRA PSN
- INFORMATION **AVBL** FROM LFSO TWR 122.100MHZ
- IN THE EVENT OF DISTURBANCE, REPORT TO RELEVANT ATS UNITS.

F0552/26
'LORRAINE' CTR AND TMA 1.1 2.1 4 5 SKED :
- MON-FRI : 0600-1930
- SAT : ATS NOT PROVIDED
- SUN : 1000-1700
OTHER SKED 24HR PPR TEL **AD** ADMINISTRATION.

F0581/26
FRENCH AIR CARRIERS AND CAPTAINS OF AIRCRAFT IN CHARGE OF AIR SERVICES OPERATED BY CARRIERS HOLDING AN OPERATING LICENSE ISSUED BY FRANCE, WHETHER THEY ARE CONTRACTUAL CARRIERS AND/OR OPERATING CARRIERS, OR PERFORMING AIR SERVICES THROUGH A WET LEASE OR A CODESHARE AGREEMENT AS WELL AS FOR ANY FLIGHT MADE WITH AN AIRCRAFT REGISTERED IN FRANCE ARE REQUESTED NOT TO PENETRATE INTO THE AIRSPACE OF LIBYA (FIR TRIPOLI (HLLL)) EXCEPT OF THE TWO-WAY ROUTES SEGMENTS M999 (ZARZAITINE SEBHA) AND G655 (SEBHA GARIN), ON WHICH A FLIGHT LEVEL ABOVE OR EQUAL TO FL320 IS REQUESTED TO BE MAINTAINED AT ALL TIMES.
THE AIR OPERATOR MUST CARRY OUT A ROBUST RISK ASSESSMENT TO ENSURE THAT THE FLIGHT CAN BE CONDUCTED UNDER SATISFACTORY SAFETY AND SECURITY CONDITIONS BEFORE ENTERING IN LYBIAN AIRSPACE.
THIS NOTAM SUPERSEDES THE RESTRICTIONS CONCERNING LYBIA AIRSPACE (FIR TRIPOLI (HLLL)) ISSUED IN PARAGRAPH 3.3 LYBIA OF THE AIC NR 02/26 CURRENTLY IN EFFECT.

F0579/26
FRENCH AIR CARRIERS AND CAPTAINS OF AIRCRAFT IN CHARGE OF AIR SERVICES OPERATED BY CARRIERS HOLDING AN OPERATING LICENSE ISSUED BY FRANCE, WHETHER THEY ARE CONTRACTUAL CARRIERS AND/OR OPERATING CARRIERS, OR PERFORMING AIR SERVICES THROUGH A WET LEASE OR A CODESHARE AGREEMENT AS WELL AS FOR ANY FLIGHT MADE WITH AN AIRCRAFT REGISTERED IN FRANCE ARE REQUESTED NOT TO PENETRATE INTO THE AIRSPACE OF OMAN (FIR MUSCAT (OOMM)), EXCEPT :
- MAINTAINING ALL TIMES A FLIGHT LEVEL ABOVE OR EQUAL TO FL320, FOR ROUTES LOCATED SOUTH OF THE SEGMENTS DEFINED BY THE FOLLOWING REPORTING POINTS, RESPECTING THE SEQUENCE BELOW :
DANOM 225454N450509E
KEDON 202516N555850E
VELOD 234617N573430E
THE AIR OPERATOR MUST CARRY OUT A ROBUST RISK ASSESSMENT TO ENSURE THAT THE FLIGHT CAN BE CONDUCTED UNDER SATISFACTORY SAFETY AND SECURITY CONDITIONS BEFORE ENTERING THIS AREA.

F0578/26

FRENCH AIR CARRIERS AND CAPTAINS OF AIRCRAFT IN CHARGE OF AIR SERVICES OPERATED BY CARRIERS HOLDING AN OPERATING LICENSE ISSUED BY FRANCE, WHETHER THEY ARE CONTRACTUAL CARRIERS AND/OR OPERATING CARRIERS, OR PERFORMING AIR SERVICES THROUGH A WET LEASE OR A CODESHARE AGREEMENT AS WELL AS FOR ANY FLIGHT MADE WITH AN AIRCRAFT REGISTERED IN FRANCE ARE REQUESTED NOT TO PENETRATE INTO THE AIRSPACE OF SAUDI ARABIA (FIR JEDDAH (OEJD)), EXCEPT
- FOR THE USE OF JEDDAH AERODROME (OEJN) AND TABUK AERODROME (OETB). - FOR ROUTES ON WHICH A FLIGHT LEVEL ABOVE OR EQUAL TO FL320 IS REQUESTED TO BE MAINTAIN AT ALL TIMES AND ARE LOCATED WEST OF THE SEGMENTS DEFINED BY THE FOLLOWING REPORTING POINTS, RESPECTING THE SEQUENCE BELOW :
OBSOT 295451N373455E
DANOM 225454N450509E
KEDON 202516N555850E
- FOR THE USE OF YENBO AERODROME (OEYN) AND TAIF AERODROME (OETF) AS ALTERNATE ONLY.
THE AIR OPERATOR MUST CARRY OUT A ROBUST RISK ASSESSMENT TO ENSURE THAT THE FLIGHT CAN BE CONDUCTED UNDER SATISFACTORY SAFETY AND SECURITY CONDITIONS BEFORE ENTERING THIS AREA AND BEFORE OPERATING FLIGHTS TO JEDDAH AIRPORT (OEJN).
THIS NOTAM SUPERSEDES THE RESTRICTIONS CONCERNING SAUDI ARABIA AIRSPACE (FIR JEDDAH (OEJD)) ISSUED IN PARAGRAPH 3.13 SAUDI ARABIA OF THE AIC NR 02/26 CURRENTLY IN EFFECT.

F0577/26

FRENCH AIR CARRIERS AND CAPTAINS OF AIRCRAFT IN CHARGE OF AIR SERVICES OPERATED BY CARRIERS HOLDING AN OPERATING LICENSE ISSUED BY FRANCE, WHETHER THEY ARE CONTRACTUAL CARRIERS AND/OR OPERATING CARRIERS, OR PERFORMING AIR SERVICES THROUGH A WET LEASE OR A CODESHARE AGREEMENT AS WELL AS FOR ANY FLIGHT MADE WITH AN AIRCRAFT REGISTERED IN FRANCE ARE REQUESTED NOT TO PENETRATE INTO THE ENTIRE AIRSPACE OF JORDAN (FIR AMMAN (OJAC

F0576/26

FRENCH AIR CARRIERS AND CAPTAINS OF AIRCRAFT IN CHARGE OF AIR SERVICES OPERATED BY CARRIERS HOLDING AN OPERATING LICENSE ISSUED BY FRANCE, WHETHER THEY ARE CONTRACTUAL CARRIERS AND/OR OPERATING CARRIERS, OR PERFORMING AIR SERVICES THROUGH A WET LEASE OR A CODESHARE AGREEMENT AS WELL AS FOR ANY FLIGHT MADE WITH AN AIRCRAFT REGISTERED IN FRANCE ARE REQUESTED NOT TO PENETRATE INTO THE ENTIRE AIRSPACE OF BAHRAIN (FIR BAHRAIN (OBBB

F0575/26

FRENCH AIR CARRIERS AND CAPTAINS OF AIRCRAFT IN CHARGE OF AIR SERVICES OPERATED BY CARRIERS HOLDING AN OPERATING LICENSE ISSUED BY FRANCE, WHETHER THEY ARE CONTRACTUAL CARRIERS AND/OR OPERATING CARRIERS, OR PERFORMING AIR SERVICES THROUGH A WET LEASE OR A CODESHARE AGREEMENT AS WELL AS FOR ANY FLIGHT MADE WITH AN AIRCRAFT REGISTERED IN FRANCE ARE REQUESTED NOT TO PENETRATE INTO THE ENTIRE AIRSPACE OF KUWAIT (FIR KUWAIT (OKAC)).

F0573/26

FRENCH AIR CARRIERS AND CAPTAINS OF AIRCRAFT IN CHARGE OF AIR SERVICES OPERATED BY CARRIERS HOLDING AN OPERATING LICENSE ISSUED BY FRANCE, WHETHER THEY ARE CONTRACTUAL CARRIERS AND/OR OPERATING CARRIERS, OR PERFORMING AIR SERVICES THROUGH A WET LEASE OR A CODESHARE AGREEMENT AS WELL AS FOR ANY FLIGHT MADE WITH AN AIRCRAFT REGISTERED IN FRANCE ARE REQUESTED NOT TO PENETRATE INTO THE ENTIRE AIRSPACE OF LEBANON (FIR BEIRUT (OLBB)).

F0574/26
FRENCH AIR CARRIERS AND CAPTAINS OF AIRCRAFT IN CHARGE OF AIR SERVICES OPERATED BY CARRIERS HOLDING AN OPERATING LICENSE ISSUED BY FRANCE, WHETHER THEY ARE CONTRACTUAL CARRIERS AND/OR OPERATING CARRIERS, OR PERFORMING AIR SERVICES THROUGH A WET LEASE OR A CODESHARE AGREEMENT AS WELL AS FOR ANY FLIGHT MADE WITH AN AIRCRAFT REGISTERED IN FRANCE ARE REQUESTED NOT TO PENETRATE INTO THE ENTIRE AIRSPACE OF QATAR (FIR DOHA (OTDF)).

F0571/26
FRENCH AIR CARRIERS AND CAPTAINS OF AIRCRAFT IN CHARGE OF AIR SERVICES OPERATED BY CARRIERS HOLDING AN OPERATING LICENSE ISSUED BY FRANCE, WHETHER THEY ARE CONTRACTUAL CARRIERS AND/OR OPERATING CARRIERS, OR PERFORMING AIR SERVICES THROUGH A WET LEASE OR A CODESHARE AGREEMENT AS WELL AS FOR ANY FLIGHT MADE WITH AN AIRCRAFT REGISTERED IN FRANCE ARE REQUESTED NOT TO PENETRATE INTO THE ENTIRE AIRSPACE OF IRAQ (FIR BAGHDAD (ORBB)).
THIS NOTAM SUPERSEDES THE RESTRICTIONS CONCERNING IRAQ AIRSPACE (FIR BAGHDAD (ORBB)) ISSUED IN PARAGRAPH 3.2 IRAQ OF THE AIC NR 02/26 CURRENTLY IN EFFECT.

F0572/26
FRENCH AIR CARRIERS AND CAPTAINS OF AIRCRAFT IN CHARGE OF AIR SERVICES OPERATED BY CARRIERS HOLDING AN OPERATING LICENSE ISSUED BY FRANCE, WHETHER THEY ARE CONTRACTUAL CARRIERS AND/OR OPERATING CARRIERS, OR PERFORMING AIR SERVICES THROUGH A WET LEASE OR A CODESHARE AGREEMENT AS WELL AS FOR ANY FLIGHT MADE WITH AN AIRCRAFT REGISTERED IN FRANCE ARE REQUESTED NOT TO PENETRATE INTO THE ENTIRE AIRSPACE OF UNITED ARAB EMIRATES (FIR EMIRATES (OMAE

F0569/26
FRENCH AIR CARRIERS AND CAPTAINS OF AIRCRAFT IN CHARGE OF AIR SERVICES OPERATED BY CARRIERS HOLDING AN OPERATING LICENSE ISSUED BY FRANCE, WHETHER THEY ARE CONTRACTUAL CARRIERS AND/OR OPERATING CARRIERS, OR PERFORMING AIR SERVICES THROUGH A WET LEASE OR A CODESHARE AGREEMENT AS WELL AS FOR ANY FLIGHT MADE WITH AN AIRCRAFT REGISTERED IN FRANCE ARE REQUESTED NOT TO PENETRATE INTO THE ENTIRE AIRSPACE OF IRAN (FIR TEHRAN (OIIX)).
THIS NOTAM SUPERSEDES THE RESTRICTIONS CONCERNING IRAN AIRSPACE (FIR TEHRAN (OIIX)) ISSUED IN PARAGRAPH 3.14 IRAN OF THE AIC NR 02/26 CURRENTLY IN EFFECT.

P1098/26
MEASURMENT MAST NR 55066 **U/S** - RDL153/16.2NM LFEU :
-PSN : 483741.83N 0052220.48E
-HEIGHT : 270FT
-ELEV : 1360FT.

P1094/26
WIND TURBINE E2108-12 LIGHTING **U/S** - RDL 302/8.0NM LFGF ARP :
- PSN : 470446.78N 0044344.21E
- HEIGHT : 427FT
- ELEVATION : 2284FT.

P1067/26
LIGHTS OF WINDTURBINE E2107-11 **U/S**
PSN : 465957.61N 0043822.50E, RDL267/10.6NM ARP LFGF
HEIGHT : 427FT
ELEV : 2241FT

P1034/26
WINDTURBINE E5705-5 LIGHTS **U/S** - RDL 046/14.2NM LFJL ARP :
PSN : 490823.35N 0063045.97E
HEIGHT : 476FT
ELEV : 1657FT.

P0985/26
WIND TURBINE E5210-8 LIGHTING (RDL010/8.1NM ARP LFSU) **U/S** :
PSN : 480547N 0051947E
HEIGHT : 480FT
ELEV : 1832FT

P0951/26
WINDTURBINE NR E5524-1 LIGHTING **U/S** - RDL 145/12.8NM LFEU :
- PSN : 484134N 0052226E
- HEIGHT : 492FT
- ELEVATION : 1676FT.

P0918/26
WIND TURBINE E2101-19 LIGHTING **U/S** - RDL 289/9.9NM LFGI ARP :
- PSN : 472624.09N 0044305.66E
- HEIGHT : 410FT
- ELEVATION : 2123FT.

F0321/26
RUSSIA AND BELARUS RESTRICTIONS :
1- ALL AIRCRAFT REGISTERED IN RUSSIA OR OPERATED BY RUSSIAN AIR CARRIERS, INCLUDING AS A MARKETING CARRIER IN CODE-SHARING OR BLOCKED-SPACE ARRANGEMENTS OR OWNED, CHARTERED OR OPERATED BY A RUSSIAN NATURAL OR LEGAL PERSON, ENTITY OR BODY ARE PROHIBITED TO LAND IN, TAKE OFF FROM OR OVERFLY THE FRENCH SOVEREIGN AIRSPACE EXCEPT IN CASE OF EMERGENCY LANDING OR EMERGENCY OVERFLIGHT AND EXCEPT FOR FLIGHTS HOLDING A PERMISSION DELIVERED IN ACCORDANCE WITH THE APPROPRIATE EU REGULATION BY THE FRENCH AUTHORITIES
2- ALL AIRCRAFT OPERATED BY BELARUSIAN AIR CARRIERS, INCLUDING AS A MARKETING CARRIER IN CODE-SHARING OR BLOCKED-SPACE ARRANGEMENTS, ARE PROHIBITED TO LAND IN, TAKE OFF FROM OR OVERFLY THE FRENCH SOVEREIGN AIRSPACE
EXCEPT IN CASE OF EMERGENCY LANDING OR EMERGENCY OVERFLIGHT AND EXCEPT FOR FLIGHTS HOLDING A PERMISSION DELIVERED IN ACCORDANCE WITH THE APPROPRIATE EU REGULATION BY THE FRENCH AUTHORITIES
3- IT SHALL BE PROHIBITED TO PARTICIPATE, KNOWINGLY AND INTENTIONALLY, IN ACTIVITIES THE OBJECT OR EFFECT OF WHICH IS TO CIRCUMVENT THESE PROHIBITIONS.

P4268/25
WIND TURBINE E5521-4 LIGHTING **U/S** :
RDL331/9.61NM ARP LFFT
PSN : 483017.57N 0053614.06E
HEIGHT : 414FT
ELEV : 1769FT

F1665/25
EUROCONTROL LOGON LIST FUNCTIONALITY SET UP FOR THE EN-ROUTE CENTRES OF BORDEAUX ACC, BREST ACC, MARSEILLE ACC, PARIS ACC AND REIMS ACC.
ONLY AIRCRAFT VALIDATED BY EUROCONTROL IN THE LOGON LIST CAN CONNECT TO THE CPDLC SERVICES OF THESE ACC.

F1418/25
DUE TO A TECHNICAL UPDATE,SOME PHONE NUMBERS OF THE 'CINQ-MARS-LA-PILE' CTL AND DETECTION CENTER '(CDC)' ARE CHANGING.
ONLY THE FLW PHONE NUMBERS HAVE TO BE USED :
'CSCAM': +33 2.45.34.16.02 (862 927 1602)
'BIV': +33 2.45.34.16.03 (862 927 1603)
'MC': +33 2.45.34.16.05 (862 927 1605) AND +33 2.45.34.16.06 (862 927 1606)
'TPO': +33 2.45.34.16.09 (862 927 1609)
'OMC': +33 2.45.34.16.10 (862 927 1610)
'FA': +33 2.45.34.16.11 (862 927 1611)
'OPS MANAGER' : +33 2.45.34.14.00 (862 927 1400)
'CDC CINQ MARS LA PILE POC' : +33 2 45 34 28 63

F0627/25
APPLICATION OF THE NEW EUROPEAN REGULATION IR SERA 2024/404 IN FORCE
ON MAY 1ST, 2025 WITH THE INTRODUCTION OF POINT SERA.14083 RELATING TO PROCEDURES IN CASE OF RADIO COMMUNICATION FAILURE.
MODIFICATION OF RADIO FAILURE PROCEDURE : INTRODUCTION OF THE NEW EMERGENCY CODE 7601 AND MODIFICATION OF THE 7-MINUTE RULE TO 20 MINUTES.
REF AIP ENR1.1

F0441/25
TRIGGER NOTAM - AIP SUP 037/25
CREATION OF EXPERIMENTAL TRANSIT CORRIDORS FOR OVERFLIGHTS OF THE 'PARC NATIONAL DE FORETS NR 021'
THIS AIP SUP IS **AVBL** AT WWW.SIA.AVIATION-CIVILE.GOUV.FR

++++++++++++++++++++++ RESTRICTED AIRSPACE ++++++++++++++++++++++

R0904/26
MAR 23-27 30-31 H24, APR 01-03 06-10 13-17 20-24 27-30 H24, MAY , 01 04-08 11-15 18-22 H24
RESTRICTED AREA LF-R174 **ACTIVATED**
F) SFC G) 1700FT AMSL

W2673/25
MODEL FLYING ACTIVITY N8090 BOUZONVILLE (57) MODIFIED :
- UPPER LIMIT RAISED TO 750FT ASFC
- PSN: 491731N 0063417E
REF AIP FRANCE ENR 5.5
F) SFC G) 1700FT AMSL

W2674/25
MODEL FLYING ACTIVITY N8080-2 SARRALBE-2 (57) **WITHDRAWN**
PSN: 485851N 0070157E
REF AIP FRANCE ENR 5.5
F) SFC G) 1200FT AMSL

W2678/25
MODEL FLYING ACTIVITY N8480 SAIZERAIS (54) **WITHDRAWN**
PSN: 484712N 0060127E
REF AIP FRANCE ENR 5.5
F) SFC G) 450FT AGL

W2691/25
WINCHING ACTIVITY NR 957 'MEYENHEIM' **WITHDRAWN**
PSN : 475500N 0072400E
REF ENR 5.5
F) SFC G) 1700FT AMSL

R3169/25
TRIGGER NOTAM - AIP SUP 216/25 :
OUT OF SIGHT UNMANNED ACFT FLIGHTS IN 'METZ' AREA REQUIRING THE CREATION OF A TEMPORARY RESTRICTED AREA ('ZRT METZ-THIONVILLE').
THIS AIP SUP IS **AVBL** AT WWW.SIA.AVIATION-CIVILE.GOUV.FR
F) SFC G) 330FT AGL

W2566/25
DRONES ACT OVER 'MEISTRATZHEIM' :
DAY AND NIGHT DRONE SWARM FLIGHTS CARRYING PYROTECHNIC CHARGES, OUTSIDE AEM 8034 MEISTRATZHEIM ACT.
PSN : 482721N 0073408E
RDL207/5.7NM LFST
F) SFC G) 400FT AGL

R2339/25
TRIGGER NOTAM - AIP SUP 091/24 MODIFIED :
CREATION OF 94 TEMPORARY RESTRICTED AREAS ('ZRT') AND OF 4
TEMPORARY DANGEROUS AREAS ('ZDT'). THESE AREAS WILL BE **ACTIVATED**
BY NOTAM.

MODIFICATIONS :
1)PAGE 1
RELEVANT AUTHORITIES CONTACT DETAILS DURING OPERATION :
MIL CTL AND REPORTING CENTRE (CRC) OF CINQ-MARS-LA-PILE - PHONE :
+33 2 45 34 15 67
MIL CTL AND REPORTING CENTRE (CRC) OF MONT DE MARSAN : WITHOUT ANY
CHANGE
'EACA ROISSY' : WITHOUT ANY CHANGE
2)PAGE 18
ADD 'ZRT COTENTIN HIGH' :
-LATERAL LIMITS :
500000N 0010706W
500000N 0005922W
491619N 0005714W
491637N 0010525W
500000N 0010706W
-VERTICAL LIMITS :
FL205/FL215
-ACTUAL TIME SLOTS PROVIDED BY :
BREST CTL (SECTEUR JS) : 127.385MHZ

THIS AIP SUP IS **AVBL** AT WWW.SIA.AVIATION-CIVILE.GOUV.FR
F) FL095 G) FL215

R2096/25
TRIGGER NOTAM - AIP SUP 159/25 : WEAPON AIRCRAFT TRAINING
REQUIRING
THE CREATION, ON AN EXPERIMENTAL BASIS, OF 3 TEMPORARY RESTRICTED
AREAS IN THE SAINT-DIZIER REGION.
THIS AIP SUP IS **AVBL** AT WWW.SIA.AVIATION-CIVILE.GOUV.FR
F) FL065 G) FL195

W1339/25
WINCHING ACTIVITY NR947 'TRITTELING-REDLACH' (57) **WITHDRAWN**
PSN: 490500N 0063800E
REF ENR5.5
F) SFC G) 1000FT AGL

W1341/25
WINCHING ACTIVITY NR 948 'MARANGE' (57) **WITHDRAWN**
PSN : 490600N 0063100E
REF ENR5.5
F) SFC G) 1000FT AGL

W1343/25
WINCHING ACTIVITY NR949 'GUENVILLER'(57) **WITHDRAWN**
PSN : 490700N 0064800E
REF ENR5.5
F) SFC G) 1000FT AGL

W1345/25
MODEL FLYING ACTIVITY NR8362 'PUXIEUX' MODIFIED :
- UPPER LIMIT RAISED TO 800FT ASFC
- HOURS OF ACTIVITY : 0700-1730 (SUM -1HR) DAYLIGHT ONLY
PSN : 490415N 0055343E
REF ENR5.5
F) SFC G) 1650FT AMSL

W1347/25
MODEL FLYING ACTIVITY NR8024 'TART-LE-HAUT' (21) **WITHDRAWN**
PSN : 471121N 0051257E
REF ENR5.5
F) SFC G) 2300FT AMSL

W1349/25
MODEL FLYING ACTIVITY NR8112 'THORAISE' (25) **WITHDRAWN**
PSN : 471100N 0055331E
REF ENR5.5
F) SFC G) 1500FT AMSL

R1172/25
TRIGGER NOTAM - AIP SUP 088/25 MODIFIED :
UAV FLIGHTS IN CHAUMONT, MAILLY, SUIPPES AND SISSONNE REGIONS
REQUIRING THE CREATION OF A 5 TEMPORARY RESTRICTED AREAS.
THESE AREAS CAN BE **ACTIVATED** FROM MON 05H00 TO FRI 11H00 (SUM :
-1HR) EXCEPT ON PUB HOL, BY A D-7 PRIOR NOTICE NOTAM.

--- 'ZRT TRANSIT B', HAND AMEND THE COORDINATES OF THE POINT AFTER
THE FIRST ARC OF CIRCLE :
READ 483250N 0042902E INSTEAD OF 083250N 0042902E.

THIS AIP SUP IS **AVBL** AT WWW.SIA.AVIATION-CIVILE.GOUV.FR
F) FL055 G) FL125

R1032/25
TRIGGER NOTAM - AIP SUP 233/24 MODIFIED :
REMOTELY PILOTED AIRCRAFT FLYING OVER FRANCE UPPER AIRSPACE
REQUIRING THE CREATION OF A TEMPORARY DANGEROUS AREA AND TEMPORARY
RESTRICTED AREAS.
THESE AREAS ARE **ACTIVATED** BY NOTAM 48HR BEFORE (ON WORKING DAY).

CORRECT FOR READ :
RELEVANT AUTHORITIES CONTACT DETAILS
'CDC LYON MONT VERDUN' (RAMBERT) : +33 4 87 65 61 99

THIS AIP SUP IS **AVBL** AT WWW.SIA.AVIATION-CIVILE.GOUV.FR
F) FL490 G) FL550

R0680/25
TRIGGER NOTAM - AIP SUP 043/25
CREATION OF A TEMPO RESTRICTED AREA IN 'CHENEVIERES' REGION FOR
MIL TRAINING EXERCISES, **ACTIVATED** BY NOTAM AT D-2.
THIS AIP SUP IS **AVBL** AT WWW.SIA.AVIATION-CIVILE.GOUV.FR
F) 800FT AGL G) 6500FT AMSL

++++++++++++++++++++++++++++ ROUTE ++++++++++++++++++++++++++++

F1752/25
'NORTH EAST' FRA CELL - AIRAC AIP AMDT, CHART ENR 6.2 ED2/2025 :
ADD THE FOLLOWING SEGMENTS :
AWY B3 : RLP-VUCTU / VERMA-CMB
AWY J10 : DIKOL-SUIPE
AWY L613 : VESAN-RATUK / RATUK-SOVAT
AWY L615 : LUREN-DJL
AWY N57 : EGOZE-ABB
AWY N872 : MEDIL-LESDO
AWY N873 : ADUTO-VEKIN
AWY N874 : VENOR-EGOZE / NURMO-VENOR / PERON-NURMO / SULEX-PERON /
CMB-SULEX / VEKIN-CMB
AWY Q763 : TALUD-RAPOR
AWY T22 : ABB-RATUK
AWY T37 : TRO-BOLLY / BOLLY-KASON / KASON-DJL
AWY T372 : VERMA-LESDO
AWY Y473 : LUMIL-TULNI

```
AWY Z110 : AMPUM-VAVOT / VAVOT-MMD
AWY Z173 : VEKIN-ARVOL
AWY Z373 : CMB-ARVOL
FOR MORE DETAILS, REFERENCE AIP FRANCE ENR 3.2.
```

[Company NOTAM]

==========
CREW ALERT
==========

SB007/14
SUBJECT: AUTO COST INDEXES
WHEN PLANNING A COST INDEX, 2 OPTIONS ARE AVAILABLE. PILOTS MAY EITHER SELECT A SPECIFIC COST INDEX NUMBER FROM THE LIST, OR THEY MAY SELECT "AUTO". WHEN PLANNING AN "AUTO" COST INDEX, THE SYSTEM WILL REFERENCE THE SCHEDULED "TIME ENROUTE" OPTION AND ATTEMPT TO CHOOSE A COST INDEX WHICH CLOSELY MATCHES THIS VALUE. NOTE THAT THE "TIME ENROUTE" OPTION IS MEANT AS A GATE TO GATE TIME (AS INDICATED ON AN AIRLINE'S FLIGHT SCHEDULE, FOR EXAMPLE). IF A "TIME ENROUTE" OF 2:30 IS SELECTED, THE SYSTEM WILL SUBTRACT THE TAXI TIMES FROM THIS VALUE TO DETERMINE THE SCHEDULED AIR TIME. IT WILL THEN DETERMINE AND USE THE COST INDEX WHICH MATCHES THIS AIR TIME.

SB003/13
SUBJECT: FLIGHT RELEASE UNITS
ALL FLIGHT CREW: PLEASE PAY SPECIAL ATTENTION TO THE UNITS SELECTION WHEN GENERATING A FLIGHT PLAN. FAILURE TO IDENTIFY THE CORRECT UNITS WHEN REFUELING PRIOR TO FLIGHT CAN RESULT IN DEPARTING WITH INSUFFICIENT FUEL AND/OR AN ERRONEOUS PAYLOAD.

==========
CREW BULLETIN
==========

NIL

========== END OF LIDO-NOTAM-BULLETIN ==========

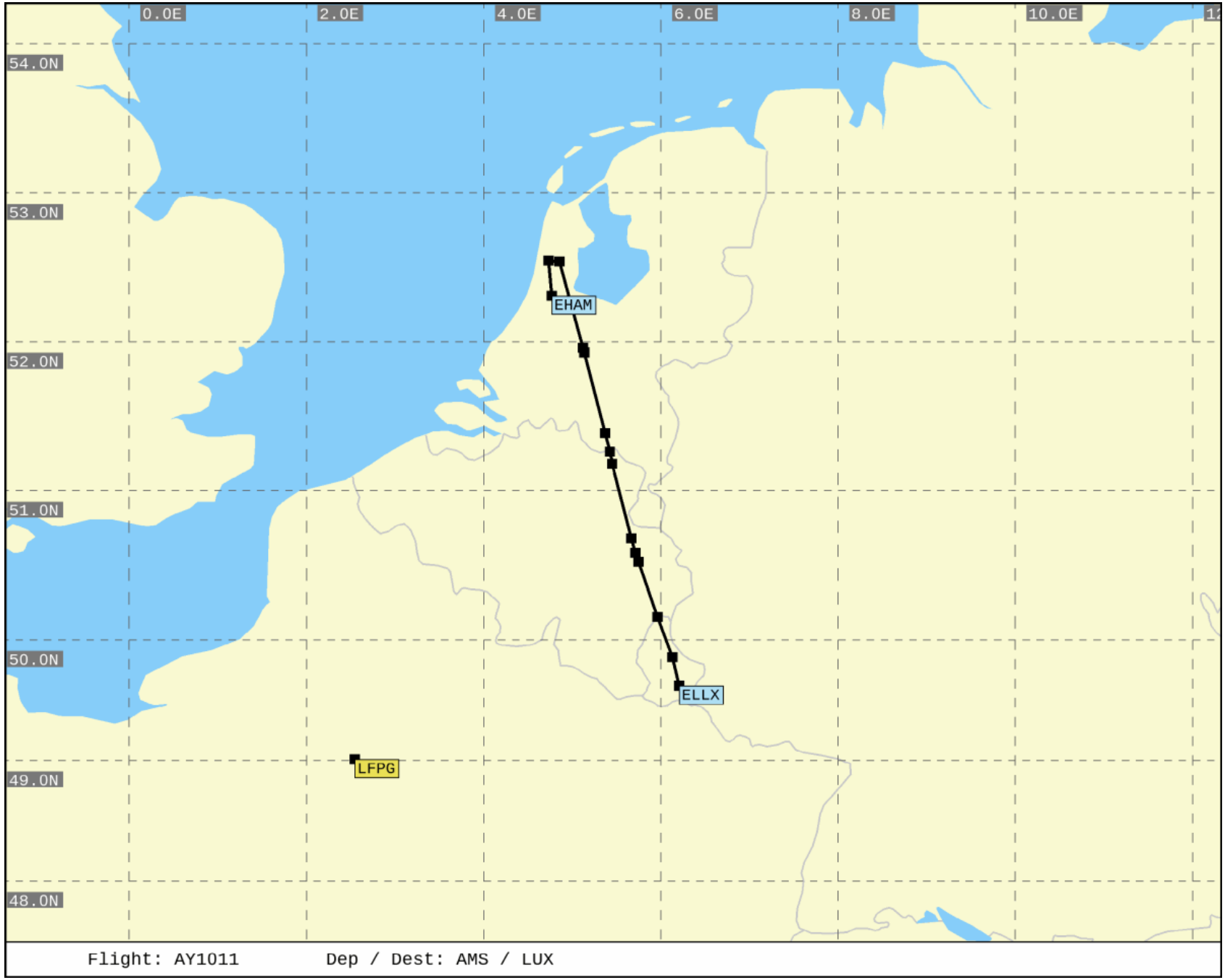
0.0E
2.0E
4.0E
6.0E
8.0E
10.0E
54.0N
53.0N
52.0N
51.0N
50.0N
49.0N
48.0N
EHAM
ELLX
LFPG
Flight: AY1011
Dep / Dest: AMS / LUX

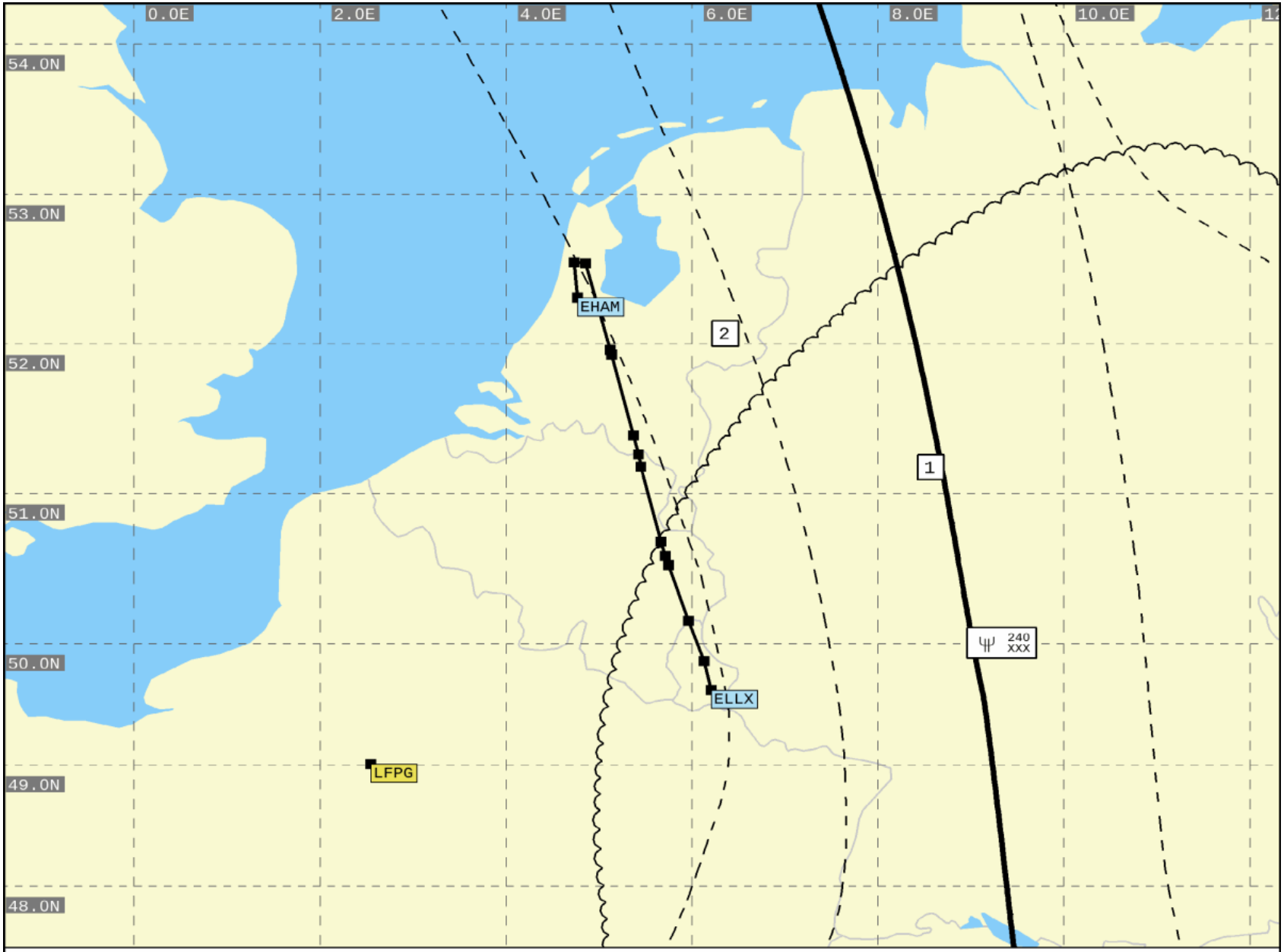

SIG WX FL 100-450 WASHINGTON
VALID 18 UTC ON 30.Mar.2026

1 400 160

2 400 160

Flight: AY1011 Dep / Dest: AMS / LUX

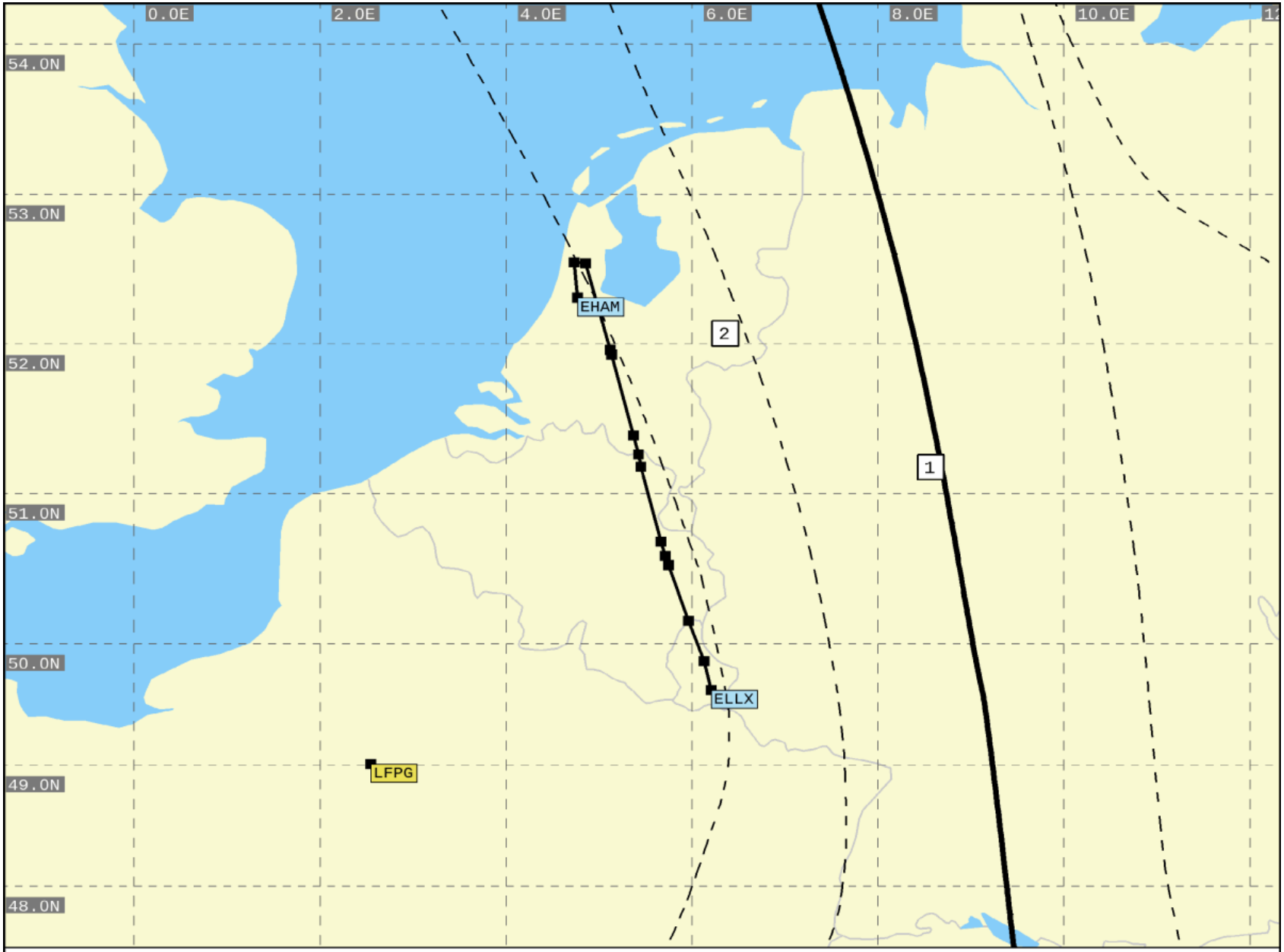

SIG WX FL 250-630 WASHINGTON
VALID 18 UTC ON 30.Mar.2026

1 400 XXX

2 400 XXX

Flight: AY1011 Dep / Dest: AMS / LUX

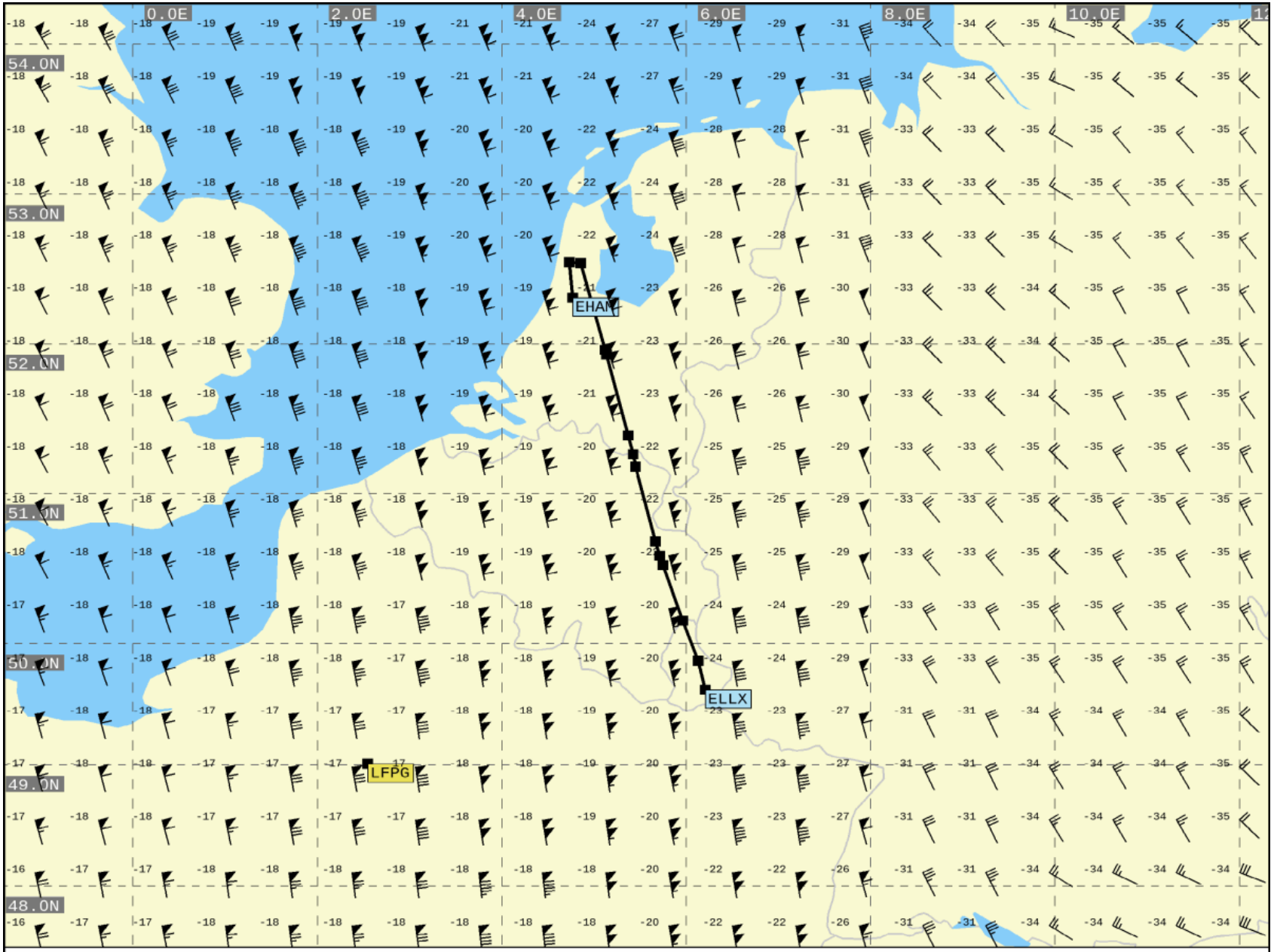

UAD VALID 18 UTC ON 30.Mar.2026 06h FL 180

Flight: AY1011 Dep / Dest: AMS / LUX

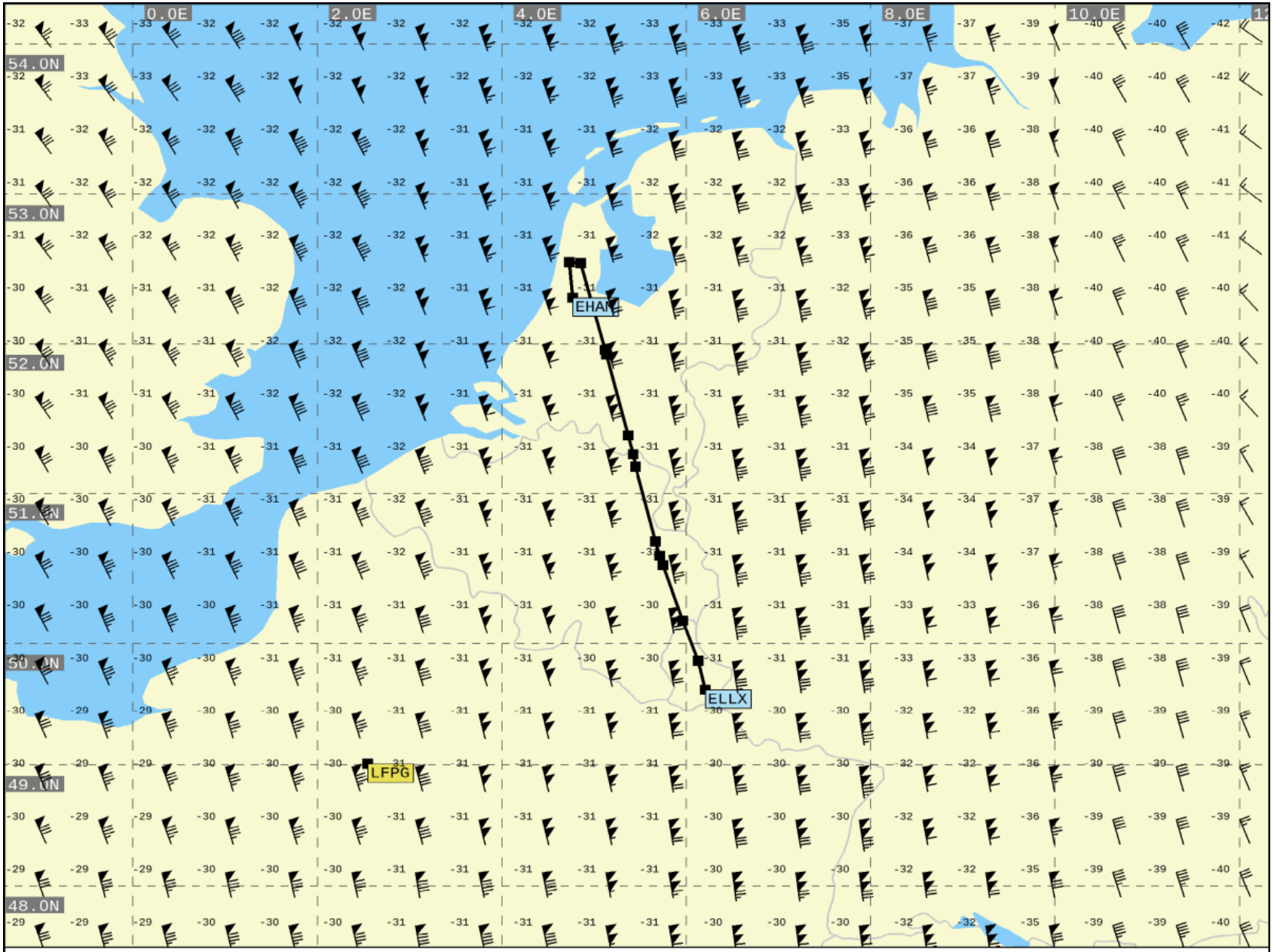

UAD VALID 18 UTC ON 30.Mar.2026 06h FL 240

Flight: AY1011 Dep / Dest: AMS / LUX

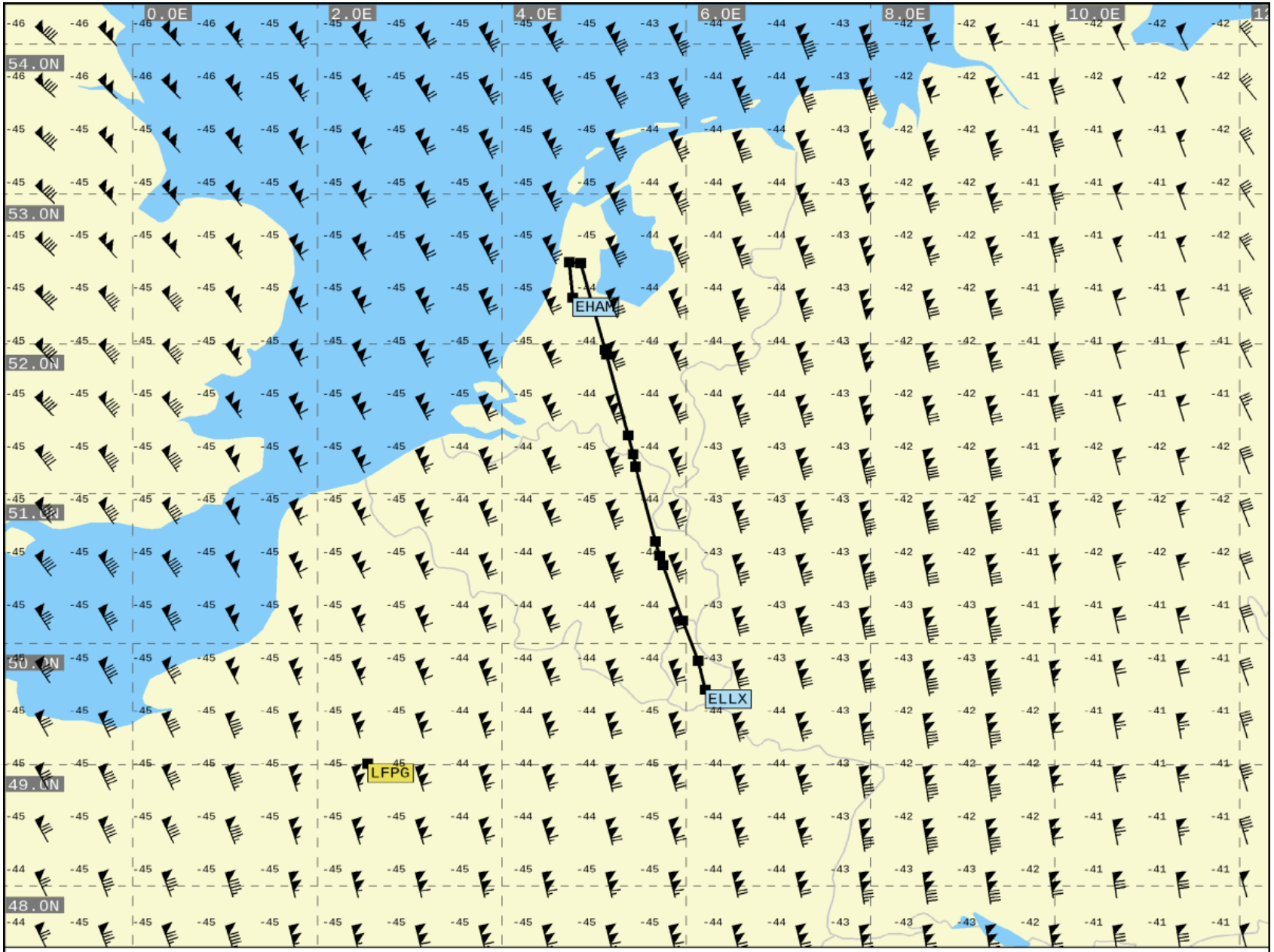

UAD VALID 18 UTC ON 30.Mar.2026 06h FL 300

Flight: AY1011 Dep / Dest: AMS / LUX

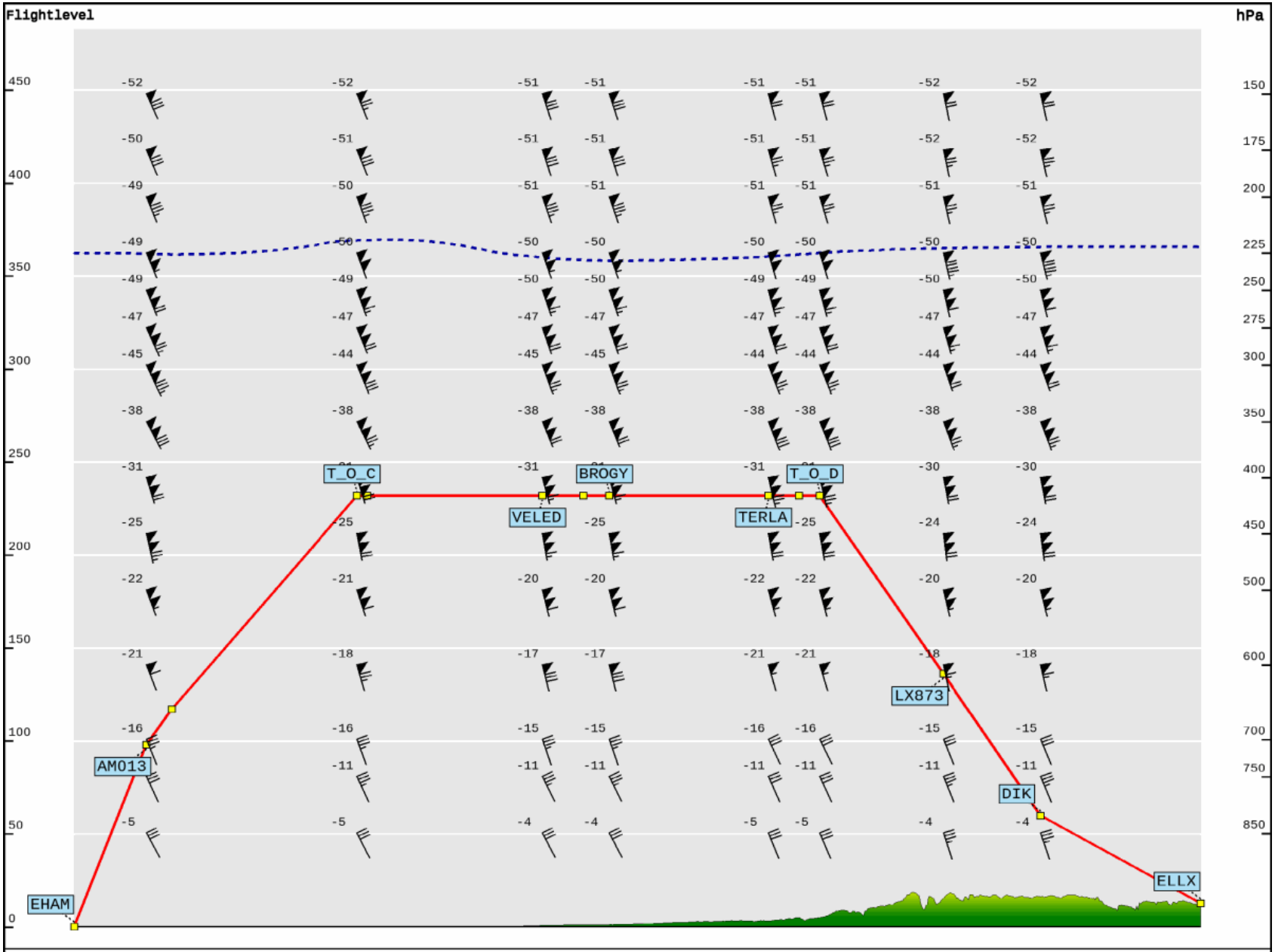

Profile VALID 18 UTC ON 30.Mar.2026 06h Average

Flight: AY1011 Dep / Dest: AMS / LUX

End of Document: Total Number of Pages: 55