[OFP]

```
FIN1005   19MAR2026    EIDW-EGLL   A333 N339SB  RELEASE 1822 19MAR26
OFP 1           DUBLIN INTL-HEATHROW
                                   WX PROG 1918 1921   OBS 1912 1912

  ATC C/S   FIN1005      EIDW/DUB   EGLL/LHR      CRZ SYS      CI 79
19MAR2026   N339SB       1840/1900  1956/2004     GND DIST       329
A330-300 / TRENT 772                STA  2000     AIR DIST       335
                         CTOT:....                G/C DIST       242
                                                  AVG WIND   053/019
MAXIMUM    TOW 233000  LAW 187000  ZFW 175000     AVG W/C       M006
ESTIMATED  TOW 170696  LAW 165227  ZFW 158287     AVG ISA       M002
                                                  AVG FF KGS/HR 5811
                                                  FUEL BIAS    P00.0
ALTN EGCC                                         TKOF ALTN  .......
FL STEPS EIDW/0330/ORZEB/0230
-----------------------------------------------------------------------
DISP RMKS   PLANNED OPTIMUM FLIGHT LEVEL

-----------------------------------------------------------------------
         PLANNED FUEL
----------------------------------
FUEL           ARPT   FUEL   TIME
----------------------------------
TRIP            LHR   5469   0056
CONT 15 MIN           1453   0015
ALTN            MAN   3307   0038
FINRES                2180   0030
----------------------------------
MINIMUM T/OFF FUEL   12409   0219
----------------------------------
EXTRA                    0   0000
----------------------------------
T/OFF FUEL           12409   0219
TAXI            DUB    544   0020
----------------------------------
BLOCK FUEL      DUB  12953
PIC EXTRA            .....
TOTAL FUEL           .....
REASON FOR PIC EXTRA ............
-----------------------------------------------------------------------
FMC INFO:
FINRES+ALTN           5487
TRIP+TAXI             6013
-----------------------------------------------------------------------
NO TANKERING RECOMMENDED (P)
-----------------------------------------------------------------------
I HEREWITH CONFIRM THAT I HAVE PERFORMED A THOROUGH SELF BRIEFING
ABOUT THE DESTINATION AND ALTERNATE AIRPORTS OF THIS FLIGHT
INCLUDING THE APPLICABLE INSTRUMENT APPROACH PROCEDURES, AIRPORT
FACILITIES, NOTAMS AND ALL OTHER RELEVANT PARTICULAR INFORMATION.

DISPATCHER: CHRISTIE MCMAHON            PIC NAME: GM, PAYAM

TEL: +1 800 555 0199               PIC SIGNATURE: ...............
```

```
ALTERNATE ROUTE TO:                                          FINRES   2180
APT      TRK DST              VIA                        FL  WC  TIME  FUEL
-----------------------------------------------------------------------
EGCC/05R 330 160  ULTIB1K ULTIB T420 ELVOS              180 M013 0038  3307
                  ELVOS1M
-----------------------------------------------------------------------

MEL/CDL ITEMS DESCRIPTION
------------- -----------

-----------------------------------------------------------------------

ROUTING:

ROUTE ID: DEFRTE
EIDW/28R PESIT2J PESIT DCT BAKUR DCT GUBJE DCT DAVAZ DCT AVZAC DCT
INFEC DCT JETZI DCT AMFUL DCT ORZEB P2 SIRIC SIRIC1H EGLL/09L

-----------------------------------------------------------------------
DEPARTURE ATC CLEARANCE:
.
.
.
-----------------------------------------------------------------------
                         OPERATIONAL IMPACTS
                         -------------------
WEIGHT CHANGE UP 1.0          TRIP  P 0022 KGS   TIME M 0000
WEIGHT CHANGE DN 1.0          TRIP  M 0020 KGS   TIME P 0000
FL CHANGE     UP FL1          TRIP  P 0006 KGS   TIME P 0000
FL CHANGE     DN FL1          TRIP  P 0021 KGS   TIME P 0000
FL CHANGE     DN FL2          TRIP  P 0054 KGS   TIME P 0000
SPD CHANGE    CI 0            TRIP  M 0042 KGS   TIME P 0002
SPD CHANGE    CI 300          TRIP  P 0132 KGS   TIME M 0000
-----------------------------------------------------------------------
```

```
-----------------------------------------------------------------------
ATIS:
.
.
--------- --------- --------- --------- --------- --------- --------
RVSM: ALT SYS  LEFT:             STBY:             RIGHT:

--------- --------- --------- --------- --------- --------- --------
-----------------------------------------------------------------------
                                TIMES
                                -----

               ESTIMATED        SKED              ACTUAL

OUT            1840Z/1840L      1840Z/1840L       ......Z

OFF            1900Z/1900L      1900Z/1900L       ......Z

ON             1956Z/1956L      1952Z/1952L       ......Z

IN             2004Z/2004L      2000Z/2000L       ......Z

BLOCK TIME     0124             0120              ......

-----------------------------------------------------------------------
                               WEIGHTS
                               -------

                EST      MAX     ACTUAL

PAX             297              ......

BAG/CARGO       7.4              ......

PAYLOAD        31.0              ......

ZFW           158.3    175.0     ......

FUEL           13.0     34.7     ......  POSS EXTRA 21.8

TOW           170.7    192.5  LDG......

STAB TRIM                        ......

LAW           165.2    187.0     ......

-----------------------------------------------------------------------
                       TERRAIN CLEARANCE CHECK
                       -----------------------
DD CHECK - TERRAIN CLEARANCE CHECK DISABLED

DP CHECK - TERRAIN CLEARANCE CHECK DISABLED
-----------------------------------------------------------------------
```

FLIGHT LOG

MOST CRITICAL MORA 04500 FEET AT DW122///MXSHR 03 AT TOC

AWY POSITION IDENT FREQ	LAT LONG	EET TTLT	ETO ATO	FL MORA DIS	IMT ITT RDIS	MN TAS GS	WIND COMP SHR	OAT TDV TRP	EFOB AFOB	PBRN ABRN
					333				12.4	0.5
DUBLIN INTL	N5325.3		...	23	331		P007			
EIDW	W00616.2	0000	...		329	264			....	....
PESIT2J				021	307	.39	144/007	10	11.9	1.0
DER28R	N5326.2	0001	...	23	305		P007	M01		
DE28R	W00617.1	0001	...	1	328	264		380	....	....
PESIT2J				036	307	.40	126/007	08	11.8	1.1
DW128	N5327.9	0000	...	23	305		P007	P00		
DW128	W00621.1	0001	...	3	325	271		380	....	....
PESIT2J				068	184	.42	267/004	03	11.6	1.4
DW991	N5330.2	0001	...	33	182		M003	P02		
DW991	W00626.5	0002	...	4	321	275		390	....	....
PESIT2J				136	156	.58	301/011	M09	11.0	1.9
DW122	N5318.8	0002	...	45	155		P005	P03		
DW122	W00627.3	0004	...	11	310	377		380	....	....
PESIT2J				231	156	.71	058/011	M30	10.2	2.8
NEPOD	N5257.0	0004	...	27	155		P001	P01		
NEPOD	W00610.5	0008	...	24	286	435		380	....	....
PESIT2J				319	164	.80	070/029	M52	9.4	3.6
PESIT	N5223.9	0005	...	20	163		M003	M03		
PESIT	W00545.4	0013	...	36	250	461		363	....	....
DCT				330	166	.80	072/032	M54	9.3	3.6
T O C	N5218.2	0000	...	20	163	461	M001	M03		
	W00542.6	0013	...	6	244	460	3	363	....	....
LONDON FIR/UIR										
-EGTT	N5214.3	0001	...							
	W00540.7	0014	...	4	240					
DCT				330	158	.80	072/032	M54	9.3	3.7
BAKUR	N5214.5	0000	...	20	157	464	M001	M03		
BAKUR	W00540.8	0014	...	0	240	463	3	363	....	....
DCT				330	157	.80	072/032	M54	9.1	3.8
GUBJE	N5202.5	0002	...	24	156	464	M004	M03		
GUBJE	W00532.7	0016	...	13	227	460	3	363	....	....
DCT				330	116	.80	066/033	M54	9.0	3.9
DAVAZ	N5153.0	0001	...	25	114	464	M001	M03		
DAVAZ	W00525.9	0017	...	10	217	463	3	362	....	....

AWY POSITION IDENT FREQ	LAT LONG	EET TTLT	ETO ATO	FL MORA DIS	IMT ITT RDIS	MN TAS GS	WIND COMP SHR	OAT TDV TRP	EFOB AFOB	PBRN ABRN
DCT				330	114	.81	066/033	M54	8.8	4.1
AVZAC	N5146.6	0002	...	26	112	466	M023	M03		
AVZAC	W00503.9	0019	...	15	202	443	3	362	....	....
DCT				330	100	.81	061/034	M54	8.4	4.5
INFEC	N5132.6	0005	...	25	100	466	M022	M03		
INFEC	W00411.5	0024	...	35	167	444	2	361	....	....
DCT				330	101	.81	061/035	M54	8.3	4.7
JETZI	N5130.5	0001	...	27	100	466	M028	M03		
JETZI	W00352.2	0025	...	12	155	438	2	361	....	....
DCT				330	095	.80	031/017	M55	8.2	4.8
AMFUL	N5128.7	0001	...	27	095	463	M006	M04		
AMFUL	W00337.4	0026	...	9	146	457	1	361	....	....
DCT				330	096	.80	020/019	M55	7.7	5.3
ORZEB	N5124.4	0006	...	29	096	463	M005	M04		
ORZEB	W00227.9	0032	...	44	102	458	2	357	....	....
P2				274	096	.68	341/013	M32	7.6	5.3
CAWZE	N5122.5	0003	...	27	096	412	P005	M01		
CAWZE	W00159.3	0035	...	18	84	417	1	358	....	....
P2				230	098	.68	342/013	M32	7.6	5.4
T O D	N5122.2	0000	...	29	096	412	P005	M01		
	W00156.2	0035	...	2	82	417	1	358	....	....
P2				181	096	.64	337/010	M20	7.5	5.4
SIRIC	N5120.6	0003	...	30	096		P005	P01		
SIRIC	W00134.0	0038	...	14	68	404		358	....	....
SIRIC1H				129	090	.57	346/007	M07	7.5	5.5
NIGIT	N5118.8	0003	...	26	090		P002	P04		
NIGIT	W00110.2	0041	...	15	53	370		357	....	....
SIRIC1H				077	090	.43	070/011	02	7.4	5.6
LLW03	N5118.5	0003	...	26	091		M010	P02		
LLW03	W00045.9	0044	...	15	38	272		357	....	....
SIRIC1H				035	356	.40	079/016	07	7.3	5.6
OCKHAM	N5118.3	0003	...	23	357		M016	M01		
OCK	W00026.8	0047	...	12	26	247		358	....	....
115.30										
SIRIC1H									6.9	6.0
HEATHROW	N5128.7	0009	...							
EGLL	W00027.7	0056	...	26					....	....

WIND INFORMATION

CLIMB	T O C	BAKUR	GUBJE
350 072/036 -57	370 075/040 -59	370 075/040 -59	370 075/040 -59
310 069/026 -50	350 073/037 -57	350 073/037 -57	350 073/037 -57
200 336/012 -23	330 072/032 -54	330 072/032 -54	330 072/032 -54
150 304/013 -12	310 070/026 -49	310 070/026 -49	310 070/026 -49
100 320/003 -02	290 061/019 -45	290 061/019 -45	290 061/019 -45

DAVAZ	AVZAC	INFEC	JETZI
370 070/040 -59	370 070/040 -59	370 067/040 -59	370 067/040 -59
350 068/038 -57	350 068/038 -57	350 064/038 -57	350 064/038 -57
330 066/033 -54	330 067/033 -54	330 061/035 -54	330 062/035 -54
310 064/027 -50	310 064/027 -50	310 060/029 -50	310 060/030 -50
290 056/021 -45	290 057/021 -45	290 053/023 -45	290 054/023 -45

AMFUL	ORZEB	CAWZE	T O D
370 043/017 -59	370 027/018 -59	270 351/018 -41	270 351/018 -41
350 038/018 -57	350 027/020 -58	250 347/015 -36	250 347/015 -36
330 032/017 -55	330 021/019 -55	230 342/013 -32	230 342/013 -32
310 022/014 -51	310 006/017 -51	210 335/012 -27	210 335/012 -27
290 012/013 -46	290 355/017 -46	190 336/011 -22	190 336/011 -22

DESCENT
350 030/021 -58
310 009/017 -51
200 334/011 -25
150 324/010 -11
100 046/008 -02

[ATC Flight Plan]

```
-----------------------------------------------------------------------
                          ICAO FLIGHT PLAN
                          ----------------

FF EISNZQZX EGTTZQZX
191822 CYULSBFP
(FPL-FIN1005-IS
-A333/H-SDE3GHIJ2J3J5M1RVWXY/LB2D1
-EIDW1840
-N0464F330 PESIT2J PESIT DCT BAKUR DCT GUBJE DCT DAVAZ DCT AVZAC DCT
 INFEC DCT JETZI DCT AMFUL DCT ORZEB/N0412F230 P2 SIRIC SIRIC1H
-EGLL0046 EGCC
-PBN/A1B1C1D1O1S2 DOF/260319 REG/N339SB EET/EGTT0014 OPR/FIN PER/C
 RMK/TCAS)
```

[Additional Info]

D I S P A T C H B R I E F I N G I N F O AY1005 EIDW/EGLL

[Runway Analysis]

```
-----------------------------------------------------------------------

TAKEOFF AND LANDING REPORT FIN 1005 EIDW-EGLL 19MAR26
TLR-1 SEQ-166681052 19MAR26 1822Z
A/C N339SB  A330-300 TRENT 772  BEW/CG 127303/.....

/// TAKEOFF DATA ///

APT   PRWY  POAT PWIND  PQNH  PMRTW FLP MT V1 VR V2 PTOW MFPTW LIMIT
EIDW  28R   9.0  092M07 1025  2330  1   54 28 28 38 1707 1925  AFM

RMKS FLEX - SEL TEMP 54
     BLEEDS ON

---- ---- ------ ----- ------- --- --- --- --- --- -----------------
RWY  OAT  WIND   QNH   MRTW    FLP V1  VR  V2  PWR CONFIG/CONDITION

---------------------------- ACARS RUNWAYS --------------------------
RWY          ACARS  LENGTH PMTOW NOTES
10L                 10200  2330 ILS 109.55
10R                  8652  2330 ILS 108.90
16                   6798  2162 ILS 111.50
28L                  8652  2050 ILS 111.35
28R                 10200  2330 ILS 110.15
34                   6798  1796

-------------------- DRY RWY - PTOW - CALM WIND --------------------
RWY          MTOW MT CONFIG                   FLP  V1  VR  V2  LIMIT
10L          2330 54 FLEX - BLEEDS ON           1 128 128 138  AFM
10R          2330 54 FLEX - BLEEDS ON           1 128 128 138  AFM
16           2138 50 FLEX - BLEEDS ON           2 127 127 137  FLD
28L          2258 54 FLEX - BLEEDS ON           1 128 128 138  FLD
28R          2330 54 FLEX - BLEEDS ON           1 128 128 138  AFM
34           2062 44 FLEX - BLEEDS ON           2 127 127 137  FLD

--------------- DRY RWY - PTOW PLUS 4000 - CALM WIND ---------------
RWY          MTOW MT CONFIG                   FLP  V1  VR  V2  LIMIT
10L          2330 54 FLEX - BLEEDS ON           1 129 129 138  AFM
10R          2330 54 FLEX - BLEEDS ON           1 129 129 138  AFM
16           2138 48 FLEX - BLEEDS ON           2 127 127 137  FLD
28L          2258 54 FLEX - BLEEDS ON           1 129 129 138  FLD
28R          2330 54 FLEX - BLEEDS ON           1 129 129 138  AFM
34           2062 43 FLEX - BLEEDS ON           2 127 127 137  FLD

------------- WET RWY - PTOW - CALM WIND - ENG A/I ON --------------
RWY          MTOW MT CONFIG                   FLP  V1  VR  V2  LIMIT
10L          2330 54 FLEX - BLEEDS ON           1 128 128 138  AFM
10R          2330 54 FLEX - BLEEDS ON           1 128 128 138  AFM
16           2121 14 TOGA - BLEEDS ON           3 127 127 134  VMC
28L          2235 54 FLEX - BLEEDS ON           1 128 128 138  FLD
28R          2330 54 FLEX - BLEEDS ON           1 128 128 138  AFM
34           1871  9 TOGA - BLEEDS OFF          3 127 127 134  VMC
```

```
-------- WET RWY - PTOW PLUS 4000 - CALM WIND - ENG A/I ON ---------
RWY          MTOW MT CONFIG                    FLP  V1  VR  V2  LIMIT
10L          2330 54 FLEX - BLEEDS ON            1 129 129 138  AFM
10R          2330 54 FLEX - BLEEDS ON            1 129 129 138  AFM
16           2121 13 TOGA - BLEEDS ON            3 127 127 134  VMC
28L          2235 54 FLEX - BLEEDS ON            1 129 129 138  FLD
28R          2330 54 FLEX - BLEEDS ON            1 129 129 138  AFM
34           1871 --                           --- --- --- ---  VMC

/// LANDING DATA ///

APT   PRWY  POAT PWIND  PQNH  PMRLW FLP  PLDW  LIMIT
EGLL  09L   13.0 069M06 1025  1870  FULL 1652  AFM

RMKS WET RUNWAY

-------- ---- ------ ----- ------- --- ----- --- -------------------
RWY      OAT  WIND   QNH   MRLW    FLP VREF  PWR CONFIG/CONDITION

---------------------------- ACARS RUNWAYS --------------------------
RWY          ACARS  LENGTH PMRLW NOTES
09L                 11785  1870 ILS 110.30
09R                 10991  1870 ILS 109.50
27L                 12001  1870 ILS 109.50
27R                 12736  1870 ILS 110.30

------------- FLAPS FULL - PACKS ON - NO ENROUTE ICING -------------
DRY RWY / WET RWY
            09L            09R            27L            27R
  OAT       11785 FT       10991 FT       12001 FT       12736 FT
   08       1870A/1870A    1870A/1870A    1870A/1870A    1870A/1870A
 / 13       1870A/1870A    1870A/1870A    1870A/1870A    1870A/1870A
   18       1870A/1870A    1870A/1870A    1870A/1870A    1870A/1870A
HW/10KT         0/    0        0/    0        0/    0        0/    0
TW/10KT         0/    0        0/    0        0/    0        0/    0

-------- LANDING DISTANCE - FLAPS FULL - MAX MANUAL BRAKING --------
                  ACTUAL            FACTORED
  LDW     VREF     DRY      WET      DRY      WET
  1620    127     3235     4083     4293     5268
  1640    128     3261     4116     4334     5317
/ 1660    128     3287     4149     4375     5366
  1680    129     3314     4182     4416     5415
  1700    130     3340     4216     4458     5465
HW/KT              -20      -25      -23      -29
TW/KT               59       74       88      106

END TAKEOFF AND LANDING REPORT FIN 1005 EIDW-EGLL 19MAR26
```

[Airport WX List]

```
-----------------------------------------------------------------------
EIDW --> EGLL    AY  1005 / 19MAR2026
LIDO/WEATHER SERVICE       DATE : 19Mar2026   TIME : 18:22 UTC

AIRMETs:
  No Wx data available

SIGMETs:
  No Wx data available

Tropical Cyclone SIGMETs:
  No Wx data available

Volcanic Ash SIGMETs:
  No Wx data available

Departure:
EIDW/DUB  DUBLIN INTL
  SA  191800  09007KT 6000 FEW018 BKN250 09/07 Q1025 NOSIG
  FT  191700  1918/2018 07008KT 9999 FEW018
              BECMG 1920/1922 VRB03KT
              PROB30 TEMPO 1922/2003 2000 BR
              BECMG 2010/2012 14005KT
              BECMG 2016/2018 VRB03KT

Destination:
EGLL/LHR  HEATHROW
  SA  191750  COR AUTO 07006KT 9999 NCD 13/01 Q1025 NOSIG
  FT  191653  1918/2024 07006KT CAVOK
              TEMPO 2002/2009 7000
              PROB30 2004/2008 4000 BR

Destination Alternates:
EGCC/MAN  MANCHESTER
  SA  191750  COR AUTO 10003KT 050V140 9999 NCD 13/05 Q1026 NOSIG
  FT  191658  1918/2024 10005KT CAVOK
              PROB40 1918/2010 8000
              PROB30 2022/2024 8000


  AIRPORTLIST ENDED
```

[NOTAM]

LIDO-NOTAM-BULLETIN INCLUDES NOTAM, COMP NOTAM AND AIP-REGULATION
VALID: 2603191840 - 2603192342 STD(EOBT)+TRIP+ALTN+3HRS
FIN 1005 /19MAR OFP-NR: 1
ROUTE: EIDW - EGLL ALTN: EGCC
N0464F330 PESIT2J PESIT DCT BAKUR DCT GUBJE DCT DAVAZ DCT AVZAC DCT
INFEC DCT JETZI DCT AMFUL DCT ORZEB/N0412F230 P2 SIRIC SIRIC1H

==========
DEPARTURE AIRPORT - DETAILED INFO
==========

EIDW/DUB DUBLIN INTL

++++++++++++++++++++++++++++ AIRPORT ++++++++++++++++++++++++++++++

A1128/26 VALID: 19-MAR-26 2300 - 21-MAR-26 0530
DAILY 2300-0530
TWY N1, **TWY** N2, **TWY N4**, **TWY** N6 AND **TWY N7 CLSD**
A1129/26 VALID: 19-MAR-26 2300 - 21-MAR-26 0530
DAILY 2300-0530
TWY M AND **TWY K CLSD**
A1130/26 VALID: 19-MAR-26 2300 - 21-MAR-26 0530
DAILY 2300-0530
RAPID EXIT **TAXIWAY N3 CLSD**
A1131/26 VALID: 19-MAR-26 2300 - 21-MAR-26 0530
DAILY 2300-0530
RAPID EXIT **TAXIWAY N5 CLSD**
A1132/26 VALID: 19-MAR-26 2300 - 21-MAR-26 0530
DAILY 2300-0530
PORTION OF **TWY N** BETWEEN **TWY** F-OUTER AND **TWY K CLSD**
A1137/26 VALID: 19-MAR-26 2300 - 21-MAR-26 0330
DAILY 2300-0330
APRON **TWY** 6 **CLSD**
A1224/26
TWY E1 AND **TWY B2 CLSD**
REF AIP SUP 009/2025
A1138/26
DAILY 2300-0400
APRON **TWY** 3 **CLSD**
A1157/26
DAILY 2230-0430
TWY T, **TWY** F1 AND **TWY** LINK 1 **CLSD**
REF AIP SUP 009/2025
REF AIP EIDW **AD** 2.24-2
A1133/26
DAILY 0700-0430
NO THROUGH TAXIING FROM **TWY A** TO **TWY F2**
REF AIP SUP 009/2025
A1169/26
RWY 10L STRAIGHT-IN INSTRUMENT APPROACH **ILS CAT** II
MINIMA **NOT AVAILABLE**
REF: EIDW **AD** 2.24-33.1

A1152/26
RWY 28L RNP INSTRUMENT APPROACH PROCEDURE LNAV/VNAV
OCA(H)MINIMA INCREASED DUE ERECTION OF A CRANE.
CAT A 570 (367)
CAT B 580 (377)
CAT C 600 (397)
REF EIDW 2.24-26.1
A1153/26
RWY 28R RNP INSTRUMENT APPROACH PROCEDURE LNAV/VNAV
OCA(H)MINIMA INCREASED DUE ERECTION OF A CRANE.
CAT A 560 (347)
CAT B 570 (357)
CAT C 600 (387)
CAT D 610 (397)
REF EIDW 2.24-29.1
A1154/26
RWY 10L ILS CAT I AND **CAT** II OR **LOC** INSTRUMENT APPROACH PROCEDURE
OCA(H) MINIMA INCREASED DUE ERECTION OF A CRANE.
ILS CAT I
CAT A 535 (300)
CAT B 545 (310)
CAT C 555 (320)
CAT D 565 (330)
ILS CAT II
CAT A 447 (212)
CAT B 463 (228)
CAT C 476 (241)
CAT D 490 (255)
REF EIDW 2.24-33.1
A1155/26
RWY 10R ILS CAT I AND **CAT** II OR **LOC** INSTRUMENT APPROACH PROCEDURE
OCA(H) MINIMA INCREASED DUE ERECTION OF A CRANE.
ILS CAT I
CAT A 401 (158)
CAT B 410 (167)
CAT C 420 (177)
CAT D 430 (187)
ILS CAT II
CAT A 307 (64)
CAT B 324 (81)
CAT C 337 (94)
CAT D 350 (107)
REF EIDW 2.24-36
N0033/26
OBST ERECTED, TEMPORARY MOBILE CRANES WITH MAXIMUM INFRINGEMENT
OF INNER HORIZONTAL SURFACE OF 23 METRES:
CRANE 1
PSN 532536.66N 0061442.87W
ELEV 443FT AMSL,
WITHIN A 50M RADIUS,
OBST LGTD
CRANE 2
PSN 532534.38N 0061438.76W,
ELEV 443FT AMSL,
WITHIN A 50M RADIUS,
OBST LGTD
A1084/26
APRON **TAXIWAY** 3 MAXIMUM WINGSPAN INCREASED FROM 36M TO 41.1M
REF: AIP EIDW **AD** 2.20 SECTION 1.4

A0151/26
RNP AND **ILS RWY 16** RDH INCORRECTLY PUBLISHED AS RDH 54 SHOULD READ RDH 50/ILS RDH 50
REF: EIDW **AD** 2.24-38.1 AND EIDW **AD** 2.24-39.1
B0051/26
AUTOMATIC TERMINAL INFORMATION SERVICE (ATIS) DUBLIN INFORMATION DEPARTURE FREQ 129.640MHZ **U/S**.
REF AIP EIDW **AD** 2.18 ATS COMMUNICATION FACILITIES
B1138/15
HOLDING PROCEDURE CHANGED. RATE OF DESCENT IN HOLDING PATTERNS AMENDED TO: A STANDARD RATE OF DESCENT OF 1000FT PER MIN IN HOLDING PATTERNS WILL BE USED UNLESS OTHERWISE INSTRUCTED BY ATC. PILOTS MUST ADVISE ATC IF UNABLE TO COMPLY WITH THE STANDARD RATE OF DESCENT.
REF AIP EIDW **AD** 2.22 SECTION 8

++++++++++++++++++++++++++++++ RUNWAY ++++++++++++++++++++++++++++++

A1127/26 VALID: 19-MAR-26 2300 - 21-MAR-26 0530
DAILY 2300-0530
RWY 10L/28R CLSD
A1141/26 VALID: 19-MAR-26 2300 - 21-MAR-26 0530
DAILY 2300-0530
NO THROUGH TAXIING ON **RWY 16/34** NORTH OF **TWY N**
A1217/26 VALID: 19-MAR-26 2240 - 20-MAR-26 0430
INSTALLING **RWY 10R/28L** TEMPORARY DISPLACED THRESHOLD
EXPECT DELAYS OF 20MINS
DECLARED DISTANCES CHANGED:
RWY 10R
TORA 2141M
TODA 2201M
ASDA 2141M
LDA 2141M
RWY 28L
TORA 2141M
TODA 2354M
ASDA 2197M
LDA 2141M
REF AIP SUP 009/2025
B0615/26 VALID: 19-MAR-26 2240 - 20-MAR-26 0430
RWY 10R/28L CENTRELINE LIGHTS **U/S**
REF AIP SUP 009/2025
A1218/26 VALID: 19-MAR-26 2240 - 20-MAR-26 0430
NO THROUGH TAXIING ON **RWY 16/34** FROM SOUTH OF THE **TWY** S1/B2 INTERSECTION TO **RWY 28L**
REF AIP SUP 009/2025
A1223/26
RWY 16/34 UNAVAILABLE FOR TAKE OFF AND LANDING
REF AIP SUP 009/2025

++++++++++++++++++++++ APPROACH PROCEDURES ++++++++++++++++++++++

A1219/26 VALID: 19-MAR-26 2300 - 20-MAR-26 0430
INSTRUMENT APPROACH PROCEDURE **RWY 28L ILS CAT** I AND **CAT** II OR **LOC NOT AVAILABLE**.
REF AIP EIDW 2.24-27
A1220/26 VALID: 19-MAR-26 2300 - 20-MAR-26 0430
INSTRUMENT APPROACH PROCEDURE RNP **RWY 28L NOT AVAILABLE**.
REF AIP EIDW **AD** 2.24-26.

A1199/26 VALID: 18-MAR-26 1408 - 19-MAR-26 2300
INSTRUMENT APPROACH PROCEDURE RNP T **RWY 28L NOT AVAILABLE.**
REF AIP EIDW **AD** 2.24-46.1
A1170/26
VFR ROUTE TO EIWT
VFR ROUTE CONTINUES TO BE **AVAILABLE** FOR USE.
WST **DVOR/DME** CANNOT BE USED FOR NAVIGATION PURPOSES.
REF: AIP EIDW **AD** 2.24-44
A1115/26
VFR APPROACH PROCEDURE LAMBAY TRANSIT ROUTE **NOT AVAILABLE**
REF AIP EIDW **AD** 2.24-44
A0898/26
RWY 28L AND **RWY 10R VOR** INSTRUMENT APPROACH PROCEDURES
ARE **NOT AVAILABLE**
REF EIDW **AD** 2.24-28.1
REF EIDW **AD** 2.24-37.1
A0152/26
EIDW INSTRUMENT RNAV STANDARD ARRIVAL CHART EIDW **AD** 2.24-24 **RWY 16**
SHOULD READ LIPGO 3U INSTEAD OF LIPGO 6U.
A0099/26
INSTRUMENT APPROACH PROCEDURE RNP **RWY 10L NOT AVAILABLE**
REF EIDW **AD** 2.24-32
B1124/23
ILS GP RWY 16 HAS A RDH OF 50FT
REF AIP EIDW **AD** 2.19 REMARKS TABLE

++++++++++++++++++++++++++++++ STAR ++++++++++++++++++++++++++++++

A1196/26
STANDARAD ARRIVAL CHART (STAR)-INSTRUMENT RNAV **RWY** 10L/R -
ALTITUDE CONSTRAINTS AMENDED
BOYNE 3R: LEVEL RESTRICTION AT ASDER SHOULD READ AT OR BELOW FL080
AND SPEED LIMIT 220KTS
REF AIP EIDW **AD** 2.24-23.2

==========
DESTINATION AIRPORT - DETAILED INFO
==========

EGLL/LHR HEATHROW

++++++++++++++++++++++++++++ AIRPORT ++++++++++++++++++++++++++++

A1102/26
LIT CRANE OPR AT PSN 513045N 0002729W (WEST DRAYTON). MAX HGT
213FT AGL, 324FT AMSL. CRANE REF 20260319177
A1071/26
ADD A NEW CRANE TO LONDON HEATHROW **AD** OBSTACLES - IN CIRCLING AREA
AND AT **AD**
OBSTACLE ID: 20260206143
TYPE: CRANE
POSITION: 513006N 0002424W
ELEVATION/HEIGHT: 299FT AMSL/197FT AGL
LIGHTING: YES - RED
REMARKS: HEATHROW ASPHALT PLANT, NORTH HYDE GARDENS, HAYES. CRANE
WILL NOT OPR IN LVP.
UK AIP EGLL **AD** 2.10 REFERS.

A1020/26
AD NOT AVBL FOR DIVERTED TFC DUE MIDDLE EAST CRISIS AND CAPACITY ISSUES. HOME BASED CARRIERS AND EMERG TFC ARE EXEMPT. ANY QUERIES PLEASE CTC THE ACFT OPS MANAGER ON +44(0)7525 825585

A0995/26
MAR 12-27 2230-0430, MAR 28 2230-0330, MAR 29-APR 11 2130-0330
LIT CRANE OPR WI PSN 512851N 0002446W - 512850N 0002442W - 512849N 0002442W - 512850N 0002446W - 512851N 0002446W (HEATHROW). MAX HGT 180FT AGL, 260FT AMSL. CRANE WILL ONLY OPR WHEN 09L/27R IS **CLSD**. NO CRANE OPR IN LVP. REF 2026031186.0

A0956/26
MAR 10-27 2230-0430, MAR 28 2230-0330, MAR 29-APR 16 2130-0330
LIT CRANE OPR WI PSN 512828N 0002706W - 512828N 0002703W - 512827N 0002704W - 512827N 0002705W - 512828N 0002706W (HEATHROW). MAX HGT 136FT AGL, 216FT AMSL. CRANE WILL ONLY OPR WHEN **RWY 09L/27R** IS **CLSD**. NO CRANE OPR IN LVP. REF 20260223190

A0908/26
MAR 06-27 2230-0430, MAR 28 2230-0330, MAR 29-30 2130-0330
LIT CRANE OPR PSN 512850N 0002708W - 512850N 0002703W - 512847N 0002703W - 512847N 0002708W - 512850N 0002708W (HEATHROW). MAX HGT 33FT AGL, 117FT AMSL. NO CRANE OPR IN LVP. CRANE WILL ONLY OPR WHEN **RWY 09L/27R** IS **CLSD**. CRANE REF 2026010942

A0893/26
NDB BUR/BURNHAM 421KHZ **U/S**

A0708/26
FEB 23- MAR 27 2230-0430, MAR 28 2230-0330, MAR 29 2130-0330
LIT CRANE OPR WI PSN 512849N 0002707W - 512849N 0002705W - 512848N 0002705W - 512848N 0002707W - 512849N 0002707W (HEATHROW). MAX HGT 52FT AGL, 137FT AMSL. CRANE WILL ONLY OPR WHEN 09L/27R IS **CLSD**. NO CRANE OPR IN LVP. REF 20260213145

A0712/26
FEB 23-27 2230-0430, MAR 02-06 2230-0430, MAR 09-13 2230-0430, MAR 23-27 2230-0430, MAR 30-APR 03 2130-0330, APR 06-10 2130-0330, APR 13-17 2130-0330, APR 20-24 2130-0330, APR 27-29 2130-0330
LIT CRANE OPR AT PSN 512740N 0002746W (HEATHROW). MAX HGT 131FT AGL, 209FT AMSL. NO CRANE OPR IN LVP'S. NO APPROACHES OR DEPARTURES FROM **RWY 09R/27L** WILL TAKE PLACE WHEN CRANE IS OPR. CRANE REF 20260219133.

A0338/26
MON-FRI 0700-1800
LIT CRANE OPR PSN 513032N 0002732W - 513032N 0002726W - 513031N 0002726W - 513031N 0002732W - 513032N 0002732W (WEST DRAYTON). MAX 138FT AGL, 242FT AMSL. NO CRANE OPR IN LVP. CRANE REF 20260121145

A0710/26
FEB 23-27 MAR 02-06 0700-1900, MAR 09-13 0700-1900, MAR 23-27 , 0700-1900, MAR 30-31 0600-1800
LIT CRANE OPR PSN 513002N 0002447W (HAYES). MAX HGT 148FT AGL, 249FT AMSL. NO CRANE OPR IN LVP. CRANE REF 20251023110

A0420/26
LONDON HEATHROW AERODROME OBSTACLES - NEW CRANE ADDED IN CIRCLING ARAD AND AT **AD**
TYPE: CRANE
ID: 20251216118
PSN: 512829N 0002926W
ELEVATION: 43FT AGL / 124FT AMSL
LIGHTING: RED
REMARKS: HEATHROW AIRPORT CONTROL POST 18 **WIP**.
CRANE WILL NOT OPR WHEN **RWY 09L/27R** IS OPR IN EASTERLY CONFIGURATION.
CRANE WILL OPERATE WITHIN THE AREA BOUNDED BY THE FOLLOWING COORDINATES: 512830N 0002927W - 512830N 0002928W - 512827N 0002925W - 512827N 0002924W.
UK AIP EGLL **AD** 2.10 REFERS.

A0358/26
LONDON HEATHROW AERODROME OBSTACLES - NEW CRANE ADDED IN CIRCLING AREA AND AT **AD**
TYPE: CRANE
ID: 20260106192
PSN: 513036N 0002340W
ELEVATION: 230FT AGL / 330FT AMSL
LIGHTING: RED
REMARKS: BROOK INDUSTRIAL ESTATE, BEACONSFIELD RD, HAYES UB4 0JZ.
CRANE WILL NOT OPERATE IN LOW VIS SAFEGUARDING / LVP.
CRANE WILL OPERATE WITHIN THE AREA BOUNDED BY THE FOLLOWING COORDINATES:
513033N 0002344W - 513033N 0002337W - 513037N 0002335W - 513038N 0002342W.
UK AIP EGLL **AD** 2.10 REFERS.

A0339/26
CRANES OPR WI 0.1NM RADIUS 513338N 0001633W (WEMBLEY) UP TO 368FT AGL/471FT AMSL. FOR INFO CTC 07514 492772. ON EXPIRY OF THIS NOTAM DETAILS WILL BE INCLUDED IN THE UK AIP ENR 5.4 AR-2025-9501/01.

A0241/26
LONDON HEATHROW AERODROME OBSTACLES - NEW CRANE ADDED IN CIRCLING AREA AND AT **AD**
TYPE: CRANE
ID: 20251215117
PSN: 513019N 0002543W
ELEVATION: 358FT AGL / 465FT AMSL
LIGHTING: RED
REMARKS: BLYTH ROAD, HAYES
UK AIP EGLL **AD** 2.10 REFERS.

A0210/26
LONDON HEATHROW AERODROME OBSTACLES - NEW CRANE ADDED IN CIRCLING AREA AND AT **AD**
TYPE: CRANE
ID: 2025121792
PSN: 512807N 0002725W
ELEVATION: 99FT AGL / 177FT AMSL
LIGHTING: RED
REMARKS: HEATHROW AIRPORT TERMINAL 3, AIRCRAFT STAND 305.
CRANE WILL NOT OPR IN LOW VISIBILITY. WILL OPR AT FULL HEIGHT WHEN **RWY 09R/27L** NOT IN USE. WILL OPR AT REDUCED HEIGHT WHEN **RWY** 09R/27L IS IN OPR. UK AIP EGLL **AD** 2.10 REFERS.

A0101/26
HEATHROW FIRE FREQ 121.600MHZ CHANGED TO 8.33KHZ CHANNEL 121.605.
UK AIP EGLL **AD** 2.18, **AD** 2.24 REFERS.

++++++++++++++++++++++++++++ RUNWAY ++++++++++++++++++++++++++++

A0955/26
AIP SUP 062/2025 LONDON HEATHROW (EGLL) - NORTHERN **RWY** (09L/27R) REHABILITATION WORKS - PHASE 4 LIGHTING SERVICES **AVBL** / LIGHTING **OUT OF SERVICE RWY 09L/27R**
A0954/26
RWY 09L/27R ENRTY/EXIT A10W **CLSD**.
A0953/26
AIP SUP 062/2025 - LONDON HEATHROW **RWY 09L/27R** REHABILITATION WORKS. PHASE 4 LIGHTING **OUT OF SERVICE** - REMOVE A7 LEAD OUT (BLUE EDGE ON
A0804/26
RWY 09L/27R MANDATORY SIGN AT A8 ON WESTERN SIDE REMOVED DUE **WIP**.

==========
DESTINATION ALTERNATE AIRPORT(S)
==========

EGCC/MAN MANCHESTER

++++++++++++++++++++++++++++ AIRPORT ++++++++++++++++++++++++++++

A1004/26
ACFT **FUEL NOT AVBL** ON STANDS 41-44R INCLUSIVE DUE **WIP**
A0690/26
VOR/DME MCT/MANCHESTER 113.55MHZ CH82Y, THERE MAY BE BEARING FLUCTUATIONS TO THE MCT **VOR** BTN SECTOR RADIALS 305 AND 345 DEG MAG DUE TO A TEMPO CRANE
A0880/26
TWY JULIET CLSD BETWEEN **TWY HOTEL** AND **TWY GOLF**.
A0826/26
HOLDING POINT H2 **CLSD**
A0828/26
0800-1700
HOLDING POINT G4 **CLOSED** HJ
J0370/26
TUE 0700-1600, WED-FRI 0700-1900, SAT 1400-2300
TEMPO **DANGER** AREA (TDA) EGD392A INSTALLED WI AREA BOUNDED BY STRAIGHT LINES JOINING
532821N 0021146W - 532821N 0021142W - 532819N 0021140W -
532818N 0021126W - 532811N 0021049W - 532808N 0021018W -
532807N 0021018W - 532807N 0021025W - 532808N 0021038W -
532811N 0021106W - 532804N 0021059W - 532804N 0021100W -
532811N 0021111W - 532815N 0021129W - 532815N 0021246W -
532800N 0021223W - 532759N 0021225W - 532827N 0021314W -
532828N 0021313W - 532819N 0021253W - 532822N 0021229W -
532820N 0021210W - 532828N 0021234W - 532830N 0021235W -
532830N 0021234W - 532819N 0021158W - 532819N 0021148W -
532821N 0021146W (LONGSIGHT, MANCHESTER). BEYOND VISUAL LINE OF SIGHT (BVLOS) UAS OPS WITHOUT VISUAL OBSERVERS CONTAINED WHOLLY WI THE TDA. MAX HGT 400FT AGL. EMERG SERVICES ACFT MAY ENTER THE AIRSPACE IN ACCORDANCE WITH LOCAL DECONFLICTION AGREEMENTS.
FOR INFO 07484 424457. AR-2026-833/06.
F) SFC G) 700FT AMSL
A0789/26
MANCHESTER FIRE FREQUENCY CHANGE FROM 121.600 TO 121.605.
UK AIP EGCC **AD** 2.18 REFERS.

A0230/26
CREWS SHALL CALL ATC WITHIN THE TARGET OFF BLOCKS TIME AND TARGET START UP APPROVAL TIME WINDOWS FOR DEP. FAILURE TO REPORT WILL RESULT IN TARGET OFF BLOCKS TIME AND TARGET START UP APPROVAL TIME BEING DELETED.

++++++++++++++++++++++ APPROACH PROCEDURES ++++++++++++++++++++++++

A0483/26
TRIGGER NOTAM - PERM AIRAC AIP AMDT 03/26 WEF 19 MAR 26
AD 2 EGCC 7-1/7-5 TILNI 1M REDESIGNATED TILNI 2M. CHART TITLE.
AD 2 EGCC 7-3 MAKUX 1M VIA FRA.

==========
EXTENDED AREA AROUND DEPARTURE
==========

EISN SHANNON FIR/UIR

++++++++++++++++++++++++++++ FIR/UIR ++++++++++++++++++++++++++++++

B0271/26
TRIGGER NOTAM IRELAND AIRAC AMENDMENT NR003 EFFECTIVE DATE 19 MAR 2026. INCLUDED IN THIS AMENDMENT IS THE UPDATED GEN 0.2 RECORD OF AIP AMENDMENTS AND GEN 0.4 CHECKLIST OF AIP PAGES.
N0037/26
OBST LIGHTS **U/S** ON MAST LOCATED AT DOONAGORE, DOOLIN, CO CLARE.
POSITION:525936.3N 0092221.7W
MAXIMUM ELEVATION:828FT
HEIGHT:148FT
N0034/26
OBSTACLE LIGHT **U/S** ON CRANE OPERATING AT SANDYFORD BUSINESS PARK, CO. DUBLIN
POSITION: 531644.188N 0061253.938W
CRANE HEIGHT: 314FT
RADIUS: 1NM
B0463/26
INFORMATION PUBLISHED IN AIRAC AMENDMENT NR 002 EFFECTIVE DATE 21 MAR 2024, IN THE FOLLWING SECTIONS:
GEN 1.5:
SUBSECTIONS 3.7.1.1.8 AND 5.1.4
GEN 3.4:
SECTION 3.5 SUBSECTION III AND SUBSECTION 3.9.3. ARE NOT YET IN EFFECT.PLEASE REVERT TO PREVIOUSLY PUBLISHED INFORMATION.

B0462/26
INFORMATION PUBLISHED IN AIRAC AMENDMENT NR002 EFFECTIVE DATE 21 MAR 2024 IN THE FOLLOWING SECTIONS:
ENR 2.2:
SECTION 4: IDENTIFICATION OF NAT TRACK MESSAGES AND OCEANIC RCL SUBMISSION PROCEDURES.
SUBSECTIONS 4.1, 4.2, 4.2.1 AND 4.3.
SUBSECTIONS 6.3, 6.4.1 AND 6.4.2.
SECTION 7: REQUEST FOR AMENDMENT TO RCL FOR AIRCRAFT TRANSITING THE SHANNON FIR/UIR/NOTA AND SOTA.
SUBSECTIONS 9.5 AND 9.6.2.
SUBSECTIONS 10.4, 10.5.2 AND 10.9.
SUBSECTIONS 11.4 AND 11.5.2. ARE NOT YET IN EFFECT.
THE FOLLOWING SECTIONS THAT WERE REMOVED FROM ENR 2.2 ARE STILL VALID:
SUBSECTIONS 4.2.2, 4.2.3, 4.2.4, 4.3.1, 4.4, 4.4.1, 4.4.2, 4.4.3, 4.5, 4.5.1, 4.5.2, 4.5.3, 4.5.4, 4.5.5, 4.6 AND 4.7.
PLEASE REVERT TO PREVIOUSLY PUBLISHED AIP INFORMATION ON THE AIRNAV WEBSITE AT WWW.AIRNAV.IE

N0021/26
OBSTACLE LIGHT ON MET MAST AT LOUGH BANNOW BOG, DERRYNASKEA, COUNTY LONGFORD, **OUT OF SERVICE**
POSN: 533802.44N 0075242.31W
HEIGHT: 328FT

N0020/26
OBSTACLE LIGHT ON MET MAST AT OWENINNY BOG, SHANVODINNAUN, COUNTY MAYO **OUT OF SERVICE**, POSITION 540826.38N 0092822.11W, ELEVATION 637FT/HEIGHT 328FT, RADIUS 1NM.

B0268/26
WESTMEATH, EISB, SNUG BEAG AIRFIELD ADDED
POSITION 533741.00N 0070040.00W
REF HAND AMENDMENTS TO AERONAUTICAL CHARTS ICAO 1:500,000 ED 12 AND 1:250,000 EAST ED 9
REF AIP GEN 3.2.8

B0267/26
LAOIS, EIBF, BENFIELD AIRFIELD ADDED
POSITION 530940.00N 0071650.00W
REF HAND AMENDMENTS TO AERONAUTICAL CHARTS ICAO 1:500,000 ED 12 AND 1:250.000 EAST ED 9
REF AIP GEN 3.2.8

B0258/26
MAYO, SHRANAKILLY, MET MAST DECOMMISSIONING AND REMOVING
POSITION 540832.96N 0093538.50W
HEIGHT 328FT/ELEVATION 653FT
REF HAND AMENDMENT AERONAUTICAL CHARTS ICAO 1:500,000 ED 12 AND 1:250,000 WEST ED 9
REF AIP GEN 3.2.8
REF AIP ENR 5.4

N0010/26
OBST LIGHTS **U/S** ON TURBINE 2 LOCATED AT HIBERNIAN WIND POWER, CARNSORE WIND FARM, NETHERTOWN, CARNE, COUNTY WEXFORD.
T2 PSN 521036.36N 0062157.48W
MET MAST PSN 521038.64N 0062204.66W
HEIGHT 250FT/ELEVATION 278FT

++++++++++++++++++++++++++++ WAYPOINT ++++++++++++++++++++++++++++

B0439/26
SHANNON FIR/UIR/NOTA/SOTA:
REPORTING POINT NERTU IS **NOT AVAILABLE** FOR FLIGHTPLANNING
REF AIP ENR 4.4

B0209/26
VOR/DME BAL/BALDONNEL 115.8MHZ CH105X **OUT OF SERVICE**
REF AIP ENR 4.1-1 RADIO NAVIGATION AIDS/SYSTEMS

++++++++++++++++++++++ RESTRICTED AIRSPACE ++++++++++++++++++++++

J0011/26
MON-FRI 1000-1700 EXC MAR 17 APR 06 MAY 04 JUN 01
FLIGHT RESTRICTION IN THE VICINITY OF COUNTY CLARE COASTLINE
A TEMPORARY RESTRICTION ON THE FLYING OF AIRCRAFT, AND ROCKETS AS
DEFINED IN S.I. NO.25 OF 2023, SHALL APPLY IN THE TEMPORARY
RESTRICTED AREA (TRA) CONTAINED WITHIN THE VOLUME OF AIRSPACE
DEFINED BELOW:
LATERAL LIMITS, THE AIRSPACE CONTAINED WITHIN:
524452.36N 0093036.12W
524523.14N 0093418.47W
ARC RADIUS OF 5KM (2.7NM) CENTRED ON
524610.85N 0093003.76W
524827.40N 0093225.92W
524759.40N 0093144.97W
524759.50N 0092913.83W
524632.84N 0092836.10W
524558.69N 0092936.65W
524519.32N 0092949.34W
524452.36N 0093036.12W
VERTICAL LIMITS: SFC TO 500FT AMSL
POINT OF CONTACT DURING ACTIVATION: A-TECHSYN HEAD OF UAV
OPERATIONS (+353 87 711 3209) OR PIC (+353 85 186 4544).
STATE AIRCRAFT, AIRCRAFT OF THE IRISH COASTGUARD SERVICE AND HEMS
OPERATORS EMPLOYED ON AN OPERATIONAL MISSION SHALL BE EXEMPT FROM
THE RESTRICTION.
F) SFC G) 500FT AMSL

J0012/26
MON-FRI 1000-1700 EXC MAR 17 APR 06 MAY 04 JUN 01
FLIGHT RESTRICTION IN THE VICINITY OF COUNTY CLARE COASTLINE
A TEMPORARY RESTRICTION ON THE FLYING OF AIRCRAFT, AND ROCKETS AS
DEFINED IN S.I. NO.25 OF 2023, SHALL APPLY IN THE TEMPORARY
RESTRICTED AREA (TRA) CONTAINED WITHIN THE VOLUME OF AIRSPACE
DEFINED BELOW:
LATERAL LIMITS, THE AIRSPACE CONTAINED WITHIN:
524523.14N 0093418.47W
524839.19N 0095438.25W
ARC RADIUS OF 28KM (15.12NM) CENTRED ON
524610.85N 0093003.76W
525743.31N 0094606.50W
524827.40N 0093225.92W
ARC RADIUS OF 5KM (2.7NM) CENTRED ON
524610.85N 0093003.76W
524523.14N 0093418.47W
VERTICAL LIMITS: SFC TO 2500FT AMSL
POINT OF CONTACT DURING ACTIVATION: A-TECHSYN HEAD OF UAV
OPERATIONS (+353 87 711 3209) OR PIC (+353 85 186 4544).
STATE AIRCRAFT, AIRCRAFT OF THE IRISH COASTGUARD SERVICE AND HEMS
OPERATORS EMPLOYED ON AN OPERATIONAL MISSION SHALL BE EXEMPT FROM
THE RESTRICTION.
F) SFC G) 2500FT AMSL

D0034/26
DANGER AREA EID6 KILWORTH, CO. CORK **ACTIVATED**
F) GND G) 8000FT AMSL

J0009/26
FLIGHT RESTRICTION IN THE VICINITY OF BANGOR ERRIS, COUNTY MAYO
A TEMPORARY RESTRICTION ON THE FLYING OF AIRCRAFT, INCLUDING
UNMANNED AIRCRAFT SYSTEMS (UAS) AS DEFINED IN S.I. NO. 24 OF 2023
AND COMMISSION IMPLEMENTING REGULATION (EU) 2019/947, AND ROCKETS
AS DEFINED IN S.I. NO. 25 OF 2023, SHALL APPLY IN THE TEMPORARY
RESTRICED AREA (TRA) CONTAINED WITHIN THE VOLUME OF AIRSPACE
DEFINED BELOW:
LATERAL LIMITS: A CIRCLE RADIUS OF 0.6NM CENTRED ON:
540733.1N 0094659.5W
POINT OF CONTACT DURING ACTIVATION
MR. ANDREI LUCA +31 685358986 OR BY EMAIL AT
A.LUCA(AT)KITEPOWER.NL MR. MARK DEVAS +353 83 842 2897 OR BY EMAIL
AT M.DEVAS(AT)KITEPOWER.NL
STATE AIRCRAFT, AIRCRAFT OF THE IRISH COASTGUARD SERVICE AND HEMS
OPERATORS EMPLOYED ON AN OPERATIONAL MISSION SHALL BE EXEMPT FROM
THE RESTRICTION.
F) SFC G) 3100FT AMSL

==========
EXTENDED AREA AROUND DESTINATION
==========

EGTT LONDON FIR/UIR

++++++++++++++++++++++++++++ FIR/UIR ++++++++++++++++++++++++++++++

B0516/26
MARHAM LOWER AIRSPACE RADAR SERVICE OPERATING HOURS
19 MAR 0800-1730
20 MAR 0900-1700
H1045/26
0900-1745
CIVIL AIRCRAFT NOTIFICATION PROCEDURE - UNDERSLUNG LOADS WILL
OPERATE LOW FLYING AREA 17 WI 2.5NM RADIUS OF PSN 541400N
0015111W, (SCRAFTON, NORTH YORKSHIRE). MAX HEIGHT 250FT AGL. ACFT
MAY BE RESTRICTED IN ABILITY TO MANOEUVRE AND UNABLE TO COMPLY
WITH RAC OPS CTC 07754 957810. 26/03/129/LFC
F) SFC G) 2100FT AMSL
H1037/26
0830-1730
CIVIL AIRCRAFT NOTIFICATION PROCEDURE -
UNDERSLUNG LOADS WILL OPERATE LOW FLYING AREA 7
WI 2NM EITHER SIDE OF TRACK AND 2NM RADIUS OF PSN 524139N 0035152W
AND 524210N 0035310W (LLANFIHANGEL-Y-PENNANT, GWYNEDD)
MAX HEIGHT 500FT AGL. ACFT MAY BE RESTRICTED IN ABILITY TO
MANOEUVRE AND UNABLE TO COMPLY WITH RAC. OPS CTC 01767621799.
26/03/126/LFC F) SFC G) 3300FT AMSL
B0245/26
TRIGGER NOTAM - PERM AIRAC AIP AMDT 03/26 WEF 19 MAR 26
MULTIPLE GEN AND ENR CHANGES, SEE COVER SHEET FOR FULL DETAILS
B0506/26
16-28 0800-1700, 29-31 0700-1600
SWANWICK MIL WEST WILL BE OPERATING A REDUCED ATS DUE STAFFING.
CONSIDER CONTACTING THE WEST SUPERVISOR PRIOR TO SORTIE
COMMENCING.

B0505/26
16-28 0800-1700, 29-31 0700-1600
SWANWICK (MIL) EAST WILL BE OPERATING A REDUCED ATS DUE STAFFING. CONSIDER CONTACTING THE EAST SUPERVISOR PRIOR TO SORTIE COMMENCING.

B0504/26
16-28 0800-1700, 29-31 0700-1600
SWANWICK (MIL) NORTH WILL BE OPERATING A REDUCED ATS DUE TO STAFFING. CONSIDER CONTACTING THE NORTH SUPERVISOR PRIOR TO THE SORTIE COMMENCING.

H0916/26
16-19 0800-1700, 20 0800-1300
MULTIPLE FAST JET ACFT WILL OPR FIGHTER CTL TRAINING NON-SEGREGATED WI 4 AREAS BOUNDED BY:
AREA 1: 510118N 0043133W - 510100N 0055000W - 512100N 0054100W - 514000N 0051900W - 514700N 0045800W - 514600N 0043200W - 510118N 0043133W.
AREA 2: 510118N 0043133W - 502300N 0043200W - 502000N 0051100W - 504400N 0054100W - 510000N 0054800W - 510100N 0055000W - 510118N 0043133W.
AREA 3: 510118N 0043133W - 514600N 0043200W - 513600N 0034300W - 510100N 0033700W - 510118N 0043133W.
AREA 4: 510118N 0043133W - 510100N 0033700W - 502700N 0034300W - 502300N 0043200W - 510118N 0043133W
FOR INFO 01935 452335. AR-2026-1819/01.
F) FL100 G) FL300

B0394/26
WESTERN RADAR ADMIN PHONE NUMBER CHANGED TO 01489-445560.
UK AIP ENR 1.6.4.2.1 RERERS.

B0395/26
FEB 27 0730-1200, MAR 06 20 27 0730-1200, MAR 13 0730-1700
WARTON LOWER AIRSPACE RADAR SERVICE **NOT AVBL**

B0327/26
YEOVILTON LOWER AIRSPACE RADAR SERVICE
AMENDED HOURS OF OPERATION
MON-THU 1000-1600
FRI 0900-1300

B0290/26
SAT SUN 0900-1700
BRIZE NORTON LOWER AIRSPACE RADAR SERVICE **NOT AVBL**

H0379/26
CHANGES TO HLS OPR WI 0.1NM RADIUS 524247N 0023053W (THE PRINCESS ROYAL HOSPITAL, WELLINGTON). PPR FOR ARRIVING HEL. NO APCH FROM THE NORTH DUE TO **WIP** IN THE VCY. APCH ON HDG 250/050 ONLY. FOR INFO 01952 641222 4229 / 01952 641222 4253. AR-2026-749/02.

B0185/26
PLYMOUTH MIL (EAST) LOWER AIRSPACE RADAR SERVICE (LARS)
FREQ 124.150MHZ CHANGED TO 8.33KHZ CHANNEL 124.155
UK AIP ENR 1.6, ENR 1.8, ENR 5.1, ENR 5.2, ENR 6 REFERS

++++++++++++++++++++++++++++ WAYPOINT ++++++++++++++++++++++++++++

B0480/26 VALID: 19-MAR-26 2130 - 20-MAR-26 0400
VOR/DME SFD/SEAFORD 117.00MHZ CH117X BOTH PARTS **U/S**

++++++++++++++++++++++ RESTRICTED AIRSPACE ++++++++++++++++++++++

H0978/26 VALID: 19-MAR-26 1830 - 19-MAR-26 2300
MULTIPLE MIL ACFT WILL CONDUCT AIR TO AIR REFUELLING WI AREA
BOUNDED BY STRAIGHT LINES JOINING
520442N 0013054E - 520737N 0013539E - 524037N 0004515E -
523755N 0004024E - 520442N 0013054E (BTN SWAFFHAM AND ORFORD) .
ACFT MAY BE UNABLE TO COMPLY WITH RAC. FOR INFO 01683 544807.
AR-2026-1945/01.
F) 3000FT AMSL G) 10000FT AMSL

H1032/26
1815-2000
PJE WI 1.5NM RADIUS OF 525326N 0005421W (LANGAR). DROP HGT SUBJ
ATC CLR. FOR INFO 01949 860878. AR-2026-2000/01.
F) SFC G) FL150

H0901/26
1200-2359
UAS SWARM OPR WI 0.3NM RADIUS OF 540709N 0013753W (GRANTLEY).
SWARM MADE UP OF 300 UAS. MAX HGT 500FT AGL. FOR INFO 07970
017256. AR-2026-1771/01.
F) SFC G) 1100FT AMSL

H1082/26
1030-1500
UAS OPR BEYOND VISUAL LINE OF SIGHT (BVLOS) UTILISING VISUAL
OBSERVERS (EXTENDED LINE OF SIGHT) WI AREA BOUNDED BY
505015N 0043336W - 505015N 0043319W - 505014N 0043307W -
505008N 0043304W - 505003N 0043304W - 504955N 0043259W -
504952N 0043253W - 504947N 0043248W - 504940N 0043257W -
504941N 0043310W - 504941N 0043337W - 505015N 0043336W (OFFSHORE
BUDE HAVEN). MAX HGT 70FT AGL. FOR INFO 07790 997405.
AR-2026-2105/02.
F) SFC G) 200FT AMSL

H0970/26 VALID: 19-MAR-26 0900 - 19-MAR-26 1900
PJE WI 5NM RADIUS OF 515828N 0025315W (PONTRILAS). DROP CONTAINED
WI FLW CONE (ALL HGT AMSL): SFC-5999FT 2NM RADIUS, 6000FT-7999FT
3NM RADIUS, 8000FT-9999FT 4NM RADIUS, 10000FT-12000FT 5NM RADIUS.
DROP HGT SUBJ ATC CLR. FOR INFO 01912 395390. AR-2026-1896/01.
F) SFC G) 12000FT AMSL

H1108/26 VALID: 19-MAR-26 0900 - 19-MAR-26 1900
CIVIL AIRCRAFT NOTIFICATION PROCEDURE - MULTIPLE PARAGLIDERS
OPERATING IN LOW FLYING AREA 7 WI 2NM RADIUS OF PSN 530523N
0035952W (GLYDERAU, SNOWDONIA). 2000FT AGL. CTC 07568 652513.
26/03/168/LFC F) SFC G) 5400FT AMSL

H1134/26
0900-1830
CIVIL AIRCRAFT NOTIFICATION PROCEDURE - MULTIPLE PARAGLIDERS
OPR IN LOW FLYING AREA 11 WI 2NM RADIUS
OF PSN 533912N 0010537W (BALNE, NORTH YORKSHIRE).
2000FT AGL. CTC 07713477069. 26/03/177/LFC
F) SFC G) 2100FT AMSL

D0820/26
19 20 22 0830-1600
DANGER AREA EGD132 ASH RANGES **ACTIVATED**
F) SFC G) 1100FT AMSL

J0294/26
RESTRICTED AREA (TEMPORARY) **ACTIVE** FOR UAS ONLY (CANTERBURY)
WI 1NM RADIUS OF PSN 511648N 0010500E DOES NOT APPLY TO ANY UAS
FLYING IN ACCORDANCE WITH EXCEPTIONS STATED IN THE AIC.
AIC M 007/2026 REFERS. FURTHER DETAILS WWW.NATS.AERO/AIS.
RESTRICTION OF FLYING REGULATIONS MADE UNDER ARTICLE 239 OF AIR
NAV ORDER 2016. AR-2025-9879/01.
F) SFC G) 1200FT AMSL

H0990/26
1100-1330
EXER. MULTIPLE MIL FAST JETS WILL OPR AND CONDUCT HIGH ENERGY
MANOEVRES WI 15NM RADIUS OF 540809N 0004734W (MALTON). ACFT MAY BE
UNABLE TO COMPLY WITH RAC. FOR INFO 01343 811446. AR-2026-1971/01.
F) SFC G) FL100

D0675/26
1730-2359
DANGER AREA EGD408 FELDOM **ACTIVATED**
F) SFC G) 3000FT AMSL

V0013/26
SECURITY - HAZARDOUS SITUATION IN AFGHANISTAN. UK REGISTERED AIR
OPERATORS ARE ADVISED TO TAKE POTENTIAL RISK INTO ACCOUNT WITHIN
FIR KABUL (OAKX). POTENTIAL RISK FROM HEIGHTENED MILITARY
ACTIVITY. AR-2026-1616/01.
F) SFC G) UNL

H0236/26
1100-1300
EXER COBRA WARRIOR 26-1. UP TO 10 MIL ACFT, INCLUDING FAST JETS,
WILL CONDUCT HIGH ENERGY MANOEVRES WI AREA BOUNDED BY:
542235N 0013157W - 541910N 0014342W - 541129N 0013630W -
535745N 0001916W - 541339N 0001133W (RAF LEEMING) . ACFT MAY BE
UNABLE TO COMPLY WITH RAC. FOR INFO 03033 782679. AR-2026-429/01.
F) SFC G) FL245

H0483/26
1100-1300
MIL EXER. A FORMATION OF UP TO 4 MIL ACFT WILL OPR WITH
IDENTIFICATION FRIEND OR FOE OFF WI AREA BOUNDED BY STRAIGHT LINES
JOINING: 564600N 0021000W - 561500N 0004000E -
560600N 0010500E - 544500N 0000500E - 560000N 0020000W -
561000N 0023000W - 564600N 0021000W (NORTH SEA). ACFT MAY BE
UNABLE TO COMPLY WITH RAC. FOR INFO 03033 727279. AR-2026-1026/01.
F) SFC G) 2000FT AMSL

H0980/26
1000-1330
EX COBRA WARRIOR 26-1. UP TO 60 MIL ACFT OPR IN MIXED FORMATIONS
WI AREA BOUNDED BY 564944N 0023059W - 561522N 0003908E -
554828N 0020148E - 542337N 0012225E - 550310N 0010229W -
550419N 0010503W THENCE ANTI-CLOCKWISE BY THE ARC OF A CIRCLE
RADIUS 21NM CENTRED ON 550217N 0014123W TO 551920N 0012007W -
551610N 0013433W - 551426N 0014100W - 551403N 0014229W -
552952N 0023047W - 553928N 0024212W - 560122N 0023945W -
561317N 0025226W - 563754N 0024601W - 564944N 0023059W
(EGD514 COMBAT AIRSPACE, NORTH SEA). ACFT MAY BE UNABLE TO COMPLY
WITH RAC. AIC Y012/2026 REFERS. FOR INFO 03033 727279.
AR-2026-1898/01.
F) SFC G) UNL

H0983/26
0900-1500
UAS OPR WI AREA BOUNDED BY 543739N 0010850W - 543739N 0010842W - 543737N 0010831W - 543729N 0010837W - 543732N 0010852W - 543739N 0010850W (REDCAR, NORTH YORKSHIRE). MAX HGT 197FT AGL. FOR INFO 07739 256462. AR-2026-1949/01.
F) SFC G) 300FT AMSL

D1042/26
17-19 0830-2359, 20 0830-1730
DANGERS AREA EGD011C MERRIVALE **ACTIVATED**
F) SFC G) 10000FT AMSL

H0944/26
MAR 17-28 0800-2000, MAR 29-JUN 14 0700-1900
FLYING OF LARGE MODEL ACFT WI 0.55NM RADIUS OF 522203N 0012346W (WOLSTON). FOR INFO 075196 65738. AR-2026-1858/01.
F) SFC G) 1900FT AMSL

H1031/26
MAR 17 - 28 0800-2100, MAR 29 - JUN 12 0700-2000
FLYING OF LARGE MODEL ACFT WI 0.5NM RADIUS OF 520800N 0010843W (MORETON PINKNEY). FOR INFO 07746 169314 OR 07973 134141. AR-2026-2004/01.
F) SFC G) 2100FT AMSL

H0975/26
SR-SS
UAS OPR BEYOND VISUAL LINE OF SIGHT (BVLOS) WI AREA BOUNDED BY 532640N 0014701W - 532605N 0015104W - 532604N 0015202W - 532636N 0015110W - 532657N 0015113W - 532716N 0015119W - 532755N 0015110W - 532804N 0014856W - 532742N 0014705W - 532640N 0014701W (RIVER ALPORT). TYPICAL UAS OPR MAX HGT 50FT AGL. FOR INFO 07725 002795 / 07940 383535. AR-2026-1932/01.
F) SFC G) 2200FT AMSL

H1054/26
0600-2300
DROPPING OF ARTICLES WI 3NM RADIUS OF 525111N 0004648E (SCULTHORPE). FOR INFO 01638 545012. AR-2026-2045/01.
F) SFC G) 2300FT AMSL

H1056/26
E BAND HIGH INTENSITY RADIO TRANSMISSION AREA (HIRTA) IN LOW FLYING AREA 17 AND NIGHT SECTOR 3BE WI 1NM RADIUS OF PSN 542114N 0014704W, (BARDEN, NORTH YORKSHIRE) MAX HEIGHT 400FT AGL. 26/03/133/LFC

SAFE DISTANCES		
CIVILIAN ACFT	0.3851NM	150FT AGL
MIL ACFT SUSCEPTIBILITY		
VERY LOW	0.3672NM	39FT AGL
LOW	0.3859NM	153FT AGL
MEDIUM	0.3967NM	219FT AGL
HIGH	0.4263NM	398FT AGL
PULSE LOW	0.3672NM	39FT AGL
PULSE MEDIUM	0.3672NM	39FT AGL
PULSE HIGH	0.3881NM	167FT AGL

F) SFC G) 1300FT AMSL

H1057/26
E BAND HIGH INTENSITY RADIO TRANSMISSION AREA (HIRTA) IN LOW FLYING AREA 11 AND NIGHT SECTOR 3A, 3BW AND 4BW WI 1NM RADIUS OF PSN 540253N 0011448W, (LINTON-ON-OUSE, NORTH YORKSHIRE). MAX HEIGHT 400FT AGL. 26/03/132/LFC
SAFE DISTANCES

CIVILIAN ACFT	0.0721NM	150FT AGL
MIL ACFT SUSCEPTIBILITY		
VERY LOW	0.0540NM	39FT AGL
LOW	0.0727NM	153FT AGL
MEDIUM	0.0835NM	219FT AGL
HIGH	0.1131NM	398FT AGL
PULSE LOW	0.0540NM	39FT AGL
PULSE MEDIUM	0.0540NM	39FT AGL
PULSE HIGH	0.0749NM	167FT AGL

F) SFC G) 500FT AMSL

H0941/26
1800-2200
ILLUMINANTS WI 0.54NM RADIUS OF 540918N 0013439W (SUTTON GRANGE). ILLUMINANTS WILL DESCEND BY PARACHUTE. FOR INFO 07783 505097 OR 07783 216227. AR-2026-1862/01.
F) SFC G) 1400FT AMSL

J0568/26
16 1315-2000, 17-20 0800-2000
TEMPO **DANGER** AREA (TDA) EGD188 INSTALLED WI 1.3NM RADIUS OF 512632N 0002409E (GRAVESEND, KENT). BEYOND VISUAL LINE OF SIGHT UAS OPERATIONS CONTAINED WHOLLY WI THE TDA. MAX HGT 400FT AGL. FOR INFO 07469 908009. AR-2025-7289/08.
F) SFC G) 700FT AMSL

D1053/26
MON WED 0900-1700, TUE THU 0900-2200, FRI 0900-1200
DANGER AREA EGD207 HOLBEACH DEACTIVATED DUE ESSENTIAL RANGE MAINT
F) SFC G) 23000FT AMSL

H0722/26
1000-2359
MIL EXER. UP TO 8 MIL ACFT WILL CONDUCT HIGH ENERGY MANOEVRES WI AREA BOUNDED BY STRAIGHT LINES JOINING
521149N 0005014E - 523900N 0015002E - 525500N 0015002E - 524006N 0023007E - 523656N 0025403E - 515215N 0021713E - 515223N 0012635E - 515858N 0012257E - 515919N 0004748E - 521149N 0005014E (OFF SHORE). ACFT MAY BE UNABLE TO COMPLY WITH RAC. FOR INFO 07867 143256. AR-2026-700/03.
F) SFC G) 2000FT AMSL

H0793/26
MAR 16-28 0900-1800, MAR 29-JUN 08 0800-1700
FLYING OF LARGE MODEL ACFT WI 0.3NM RADIUS OF 511327N 0000111W (OXTED). FOR INFO 07966439835. AR-2026-1583/01.
F) SFC G) 1800FT AMSL

H0985/26
0900-1400
MET BALLOON RELEASE/S WI 1NM RADIUS OF 530058N 0014431W (ASHBOURNE). THIS ACTIVITY WILL NOT BE WHOLLY CONTAINED WI LATERAL DIMENSION AS NOTIFIED. ASSOCIATED EQPT WILL SUBSEQUENTLY DESCEND BY PARACHUTE. FOR INFO 01142 131050. AR-2025-6626/24.
F) SFC G) UNL

H0986/26
0900-1400
MET BALLOON RELEASE/S WI 1NM RADIUS OF 525611N 0030519W (WREXHAM). THIS ACTIVITY WILL NOT BE WHOLLY CONTAINED WI LATERAL DIMENSION AS NOTIFIED. ASSOCIATED EQUIPMENT WILL SUBSEQUENTLY DESCEND BY PARACHUTE. FOR INFO 01142 131050. AR-2025-6624/22.
F) SFC G) UNL

H0987/26
0900-1400
MET BALLOON RELEASE/S WI 1NM RADIUS OF 532322N 0012610W (SHEFFIELD). THIS ACTIVITY WILL NOT BE WHOLLY CONTAINED WI LATERAL DIMENSION AS NOTIFIED. ASSOCIATED EQUIPMENT WILL SUBSEQUENTLY DESCEND BY PARACHUTE. FOR INFO 0114 213 1050. AR-2025-5247/28.
F) SFC G) UNL

H0988/26
0900-1400
MET BALLOON RELEASE/S WI 1NM RADIUS OF 532327N 0013910W (SHEFFIELD). THIS ACTIVITY WILL NOT BE WHOLLY CONTAINED WI LATERAL DIMENSION AS NOTIFIED. ASSOCIATED EQUIPMENT WILL SUBSEQUENTLY DESCEND BY PARACHUTE. FOR INFO 0114 213 1050. AR-2025-5249/26.
F) SFC G) UNL

H0640/26
0900-1645
UAS OPR WI AREA BOUNDED BY STRAIGHT LINES JOINING 511932N 0010353W - 511859N 0010241W - 511826N 0010245W - 511907N 0010354W - 511918N 0010354W - 511930N 0010354W - 511932N 0010353W (SHERFIELD ON LODDON). MAX HGT 400FT AGL. FOR INFO 07307 356200 / 07563 800818. AR-2026-1287/04.
F) SFC G) 700FT AMSL

D0821/26
16-18 21 0830-1600
DANGER AREA EGD132 ASH RANGES **ACTIVATED**
F) SFC G) 850FT AMSL

D1005/26
16-19 21-24 26 0830-1700
DANGER AREA EGD410 STRENSALL **ACTIVATED**
F) SFC G) 1000FT AMSL

D1041/26
16 0830-2359, 17-20 0830-1730
DANGER AREA EGD011B WILLSWORTHY **ACTIVATED**
F) SFC G) 4500FT AMSL

J0528/26
0000-1900
TEMPO **DANGER** AREA (TDA) EGD098B **ACTIVATED** WI AN AREA BOUNDED BY 504703N 0005208E - 505315N 0010128E - 504948N 0011548E - 504139N 0011414E - 503926N 0010808E - 504703N 0005208E (ENGLISH CHANNEL). BEYOND VISUAL LINE OF SIGHT UAS OPS CONTAINED WHOLLY WI THE TDA. A SPECIAL USE AIRSPACE ACTIVITY INFORMATION SERVICE (SUAAIS) WILL BE **AVBL** FM EITHER LONDON INFO ON FREQ 124.600MHZ (OPR H24) OR FM LYDD ATC ON CH 120.705 LYDD APPROACH DURING THE HR OF WATCH. AIC Y 019/2026 REFERS. AR-2023-11556.
F) SFC G) 1500FT AMSL

J0531/26
0000-1900
TEMPO **DANGER** AREA (TDA) EGD098D **ACTIVATED** WI AN AREA BOUNDED BY 505315N 0010128E - 510149N 0011316E - 510635N 0012927E - 510336N 0013547E - 510227N 0013230E - 505659N 0012114E - 505345N 0011650E - 504948N 0011548E - 505315N 0010128E (ENGLISH CHANNEL). BEYOND VISUAL LINE OF SIGHT UAS OPS CONTAINED WHOLLY WI THE TDA. A SPECIAL USE AIRSPACE ACTIVITY INFORMATION SERVICE (SUAAIS) WILL BE **AVBL** FM EITHER LONDON INFO ON FREQ 124.600MHZ (OPR H24) OR FM LYDD ATC ON CH 120.705 LYDD APPROACH DURING THE HR OF WATCH. AIC Y 019/2026 REFERS. AR-2023-11556.
F) SFC G) 1500FT AMSL

J0530/26
0000-1900
TEMPO **DANGER** AREA (TDA) EGD098A **ACTIVATED** WI AN AREA BOUNDED BY 504815N 0004937E - 505359N 0005825E - 505315N 0010128E - 504703N 0005208E - 504815N 0004937E (ENGLISH CHANNEL). BEYOND VISUAL LINE OF SIGHT UAS OPS CONTAINED WHOLLY WI THE TDA. A SPECIAL USE AIRSPACE ACTIVITY INFORMATION SERVICE (SUAAIS) WILL BE **AVBL** FM EITHER LONDON INFO ON FREQ 124.600MHZ (OPR H24) OR FM LYDD ATC ON CH 120.705 LYDD APPROACH DURING THE HR OF WATCH. AIC Y 019/2026 REFERS. AR-2023-11556.
F) SFC G) 1500FT AMSL

J0529/26
0000-1900
TEMPO **DANGER** AREA (TDA) EGD098C **ACTIVATED** WI AN AREA BOUNDED BY 505359N 0005825E - 510326N 0011118E - 510756N 0012635E - 510635N 0012927E - 510149N 0011316E - 505315N 0010128E - 505359N 0005825E (ENGLISH CHANNEL). BEYOND VISUAL LINE OF SIGHT UAS OPS CONTAINED WHOLLY WI THE TDA. A SPECIAL USE AIRSPACE ACTIVITY INFORMATION SERVICE (SUAAIS) WILL BE **AVBL** FM EITHER LONDON INFO ON FREQ 124.600MHZ (OPR H24) OR FM LYDD ATC ON CH 120.705 LYDD APPROACH DURING THE HR OF WATCH. AIC Y 019/2026 REFERS. AR-2023-11556.
F) SFC G) 1500FT AMSL

J0532/26
0000-1900
TEMPO **DANGER** AREA (TDA) EGD098F ESTABLISHED WI AN AREA BOUNDED BY 510341N 0010445E - 510359N 0010700E - 510414N 0011100E - 510537N 0011311E - 510612N 0011652E THENCE THE ANTICLOCKWISE ARC OF A CIRCLE OF RADIUS OF 2.25 NM CENTRED ON 510800N 0011900E BETWEEN 510612N 0011652E - 510546N 0011912E - 510326N 0011118E - 505829N 0010432E - 510120N 0010148E - 510212N 0010531E - 510341N 0010445E(ENGLISH CHANNEL). BEYOND VISUAL LINE OF SIGHT UAS OPS CONTAINED WHOLLY WI THE TDA. A SPECIAL USE AIRSPACE ACTIVITY INFORMATION SERVICE (SUAAIS) WILL BE **AVBL** FM EITHER LONDON INFO ON FREQ 124.600MHZ (OPR H24) OR FM LYDD ATC ON CH 120.705 LYDD APPROACH DURING THE HR OF WATCH. AIC Y 019/2026 REFERS. AR-2023-11556.
F) SFC G) 800FT AMSL

J0533/26
0000-1900
TEMPO **DANGER** AREA (TDA) EGD098E **ACTIVATED** WI AN AREA BOUNDED BY 510756N 0012635E - 511454N 0013137E - 512251N 0013322E - 511740N 0015439E - 511447N 0020000E - 511153N 0015200E - 510607N 0014309E - 510336N 0013547E - 510756N 0012635E (ENGLISH CHANNEL).BEYOND VISUAL LINE OF SIGHT UAS OPS CONTAINED WHOLLY WI THE TDA. A SPECIAL USE AIRSPACE ACTIVITY INFORMATION SERVICE (SUAAIS) WILL BE **AVBL** FM EITHER LONDON INFO ON FREQ 124.600MHZ (OPR H24) OR FM LYDD ATC ON CH 120.705 LYDD APPROACH DURING THE HR OF WATCH. AIC Y 019/2026 REFERS. AR-2023-11556.
F) SFC G) 2500FT AMSL

J0534/26
0000-1900
TEMPO **DANGER** AREA (TDA) EGD098G **ACTIVATED** WI AN AREA BOUNDED BY 504118N 0002647E - 504815N 0004937E - 503926N 0010808E - 503300N 0005110E - 504118N 0002647E (ENGLISH CHANNEL). BEYOND VISUALLINE OF SIGHT UAS OPS CONTAINED WHOLLY WI THE TDA. A SPECIAL USE AIRSPACE ACTIVITY INFORMATION SERVICE (SUAAIS) WILL BE **AVBL** FM EITHER LONDON INFO ON FREQ 124.600MHZ (OPR H24) OR FM LYDD ATC ON CH 120.705 LYDD APPROACH DURING THE HR OF WATCH. AIC Y 019/2026 REFERS. AR-2023-11556.
F) SFC G) 2000FT AMSL

J0535/26
0000-1900
TEMPO **DANGER** AREA (TDA) EGD098H **ACTIVATED** WI AN AREA BOUNDED BY STRAIGHT LINES JOINING 510831N 0012227E - 510756N 0012635E - 510629N 0012136E THENCE THE ANTICLOCKWISE ARC OF A CIRCLE RADIUS OF 2.25NM CENTRED ON 510800N 0011900E BTN 510629N 0012136E - 510831N 0012227E (PORT OF DOVER). BEYOND VISUAL LINE OF SIGHT UAS OPS CONTAINED WHOLLY WI THE TDA. A SPECIAL USE AIRSPACE ACTIVITY INFORMATION SERVICE (SUAAIS) WILL BE **AVBL** FM EITHER LONDON INFO ON FREQ 124.600MHZ (OPR H24) OR FM LYDD ATC ON CH 120.705 LYDD APPROACH DURING THE HR OF WATCH. AIC Y 019/2026 REFERS. AR-2023-11556.
F) SFC G) 800FT AMSL

J0537/26
0000-1900
TEMPO **DANGER** AREA (TDA) EGD098L **ACTIVATED** WI AN AREA BOUNDED BY 510845N 0012007E - 510831N 0012227E THEN THE CLOCKWISE ARC OF A CIRCLE OF RADIUS 2.25NM CENTRED ON 510800N 0011900E TO 510629N 0012136E - 510751N 0012036E - 510757N 0012004E - 510845N 0012007E (PORT OF DOVER, ENGLISH CHANNEL). BEYOND VISUAL LINE OF SIGHT UAS OPS CONTAINED WHOLLY WI THE TDA. A SPECIAL USE AIRSPACE ACTIVITY INFORMATION SERVICE (SUAAIS) WILL BE **AVBL** FM EITHER LONDON INFO ON FREQ 124.600MHZ (OPR H24) OR FM LYDD ATC ON CH 120.705 LYDD APPROACH DURING THE HR OF WATCH. AIC Y 019/2026 REFERS. AR-2023-11556.
F) SFC G) 900FT AMSL

H0961/26
MAR 14 - MAR 28 0900-2100, MAR 29 - JUN 10 0800-2000
FLYING OF LARGE MODEL ACFT WI 0.5NM RADIUS OF 531742N 0033004W (GYPSY LANE). FOR INFO 07876 597863. AR-2026-1916/01.
F) SFC G) 1600FT AMSL

H0446/26 VALID: 12-MAR-26 1000 - 19-MAR-26 2300
1000-2300
UAS SWARM OPR WI 0.1NM RADIUS OF 510925N 0023155W (EVERCREECH, SOMERSET). SWARM MADE UP OF 600 UAS. MAX HGT 400FT AGL. FOR INFO 07738 612566. AR-2026-943/01.
F) SFC G) 800FT AMSL

J0536/26
RESTRICTED AREA (TEMPORARY) INSTALLED FOR UAS ONLY (WHITFIELD)
WI AREA BOUNDED BY: 510856N 0011641E - 510907N 0011655E -
510912N 0011707E - 510910N 0011724E - 510904N 0011734E -
510855N 0011736E - 510852N 0011732E - 510845N 0011735E -
510838N 0011730E - 510831N 0011707E - 510831N 0011658E -
510842N 0011641E - 510849N 0011638E - 510856N 0011641E.
DOES NOT APPLY TO ANY UAS OPERATED BY OR ON BEHALF OF A POLICE AIR SUPPORT UNIT, AN EMERGENCY MEDICAL SERVICE, THE MARITIME AND COASTGUARD AGENCY OR ANY UAS FLYING IN ACCORDANCE WITH A PERMISION ISSUED BY BORDER FORCE CTC EMAIL: SECMANKENT(AT)HOMEOFFICE.GOV.UK.
RESTRICTION OF FLYING REGULATIONS MADE UNDER ARTICLE 239 OF THE AIR NAV ORDER 2016.
ON EXPIRY OF THIS NOTAM DETAILS WILL BE INCLUDED IN THE UK AIP ENR 5.1. AR-2025-9694/03.
F) SFC G) 1000FT AMSL

H0831/26
1830-2130
UAS SWARM OPR WI 0.1NM RADIUS OF 504650N 0004032W (BOGNOR REGIS).
SWARM MADE UP OF 60 UAS. MAX HGT 600FT AGL. FOR INFO 01243908031.
AR-2026-1653/01.
F) SFC G) 700FT AMSL

H0898/26
MAR 09 - 28 1000-2359, MAR 29 - JUN 06 0900-2259
UAS SWARM OPR WI 0.5NM RADIUS OF 522125N 0010447W (WINWICK). SWARM MADE UP OF 500 UAS. MAX HGT 600FT AGL. FOR INFO 07970 017256.
AR-2026-1769/01.
F) SFC G) 1200FT AMSL

H0902/26
MAR 09-28 0800-1700, MAR 29-31 0700-1600
UAS OPR WI AREA BOUNDED BY
545713N 0013324W - 545720N 0013146W - 545659N 0013039W -
545459N 0012943W - 545420N 0012932W - 545341N 0012945W -
545320N 0013002W - 545314N 0012943W - 545349N 0012842W -
545426N 0012703W - 545443N 0012618W - 545427N 0012550W -
545347N 0012652W - 545305N 0012817W - 545223N 0012919W -
545205N 0012943W - 545150N 0013006W - 545214N 0013109W -
545248N 0013022W - 545259N 0013057W - 545327N 0013103W -
545421N 0013044W - 545516N 0013059W - 545619N 0013131W -
545642N 0013203W - 545643N 0013324W - 545713N 0013324W
(PELAW TO PENSHAW). MAX HGT 361FT AGL.
FOR INFO 07301 528940 OR 01914 913444. AR-2026-1782/01.
F) SFC G) 900FT AMSL

H0850/26
MAR 06-28 1200-2300, MAR 29-APR 06 1100-2200
UAS SWARM OPR WI 1NM RADIUS OF 504109N 0011422W (DOWNEND). SWARM MADE UP OF 160 UAS. MAX HGT 601FT AGL. FOR INFO 07919 578177.
AR-2026-1700/01.
F) SFC G) 1100FT AMSL

H0879/26
UAS OPR BEYOND VISUAL LINE OF SIGHT (BVLOS) UTILISING VISUAL OBSERVERS (EXTENDED LINE OF SIGHT) WI 2NM RADIUS OF
515053N 0005735W (WESTCOTT). MAX HGT 400FT AGL. FOR INFO
07852 318946. AR-2026-1737/01.
F) SFC G) 1000FT AMSL

J0487/26
RESTRICTED AREA (TEMPORARY) INSTALLED FOR UAS ONLY (LEICESTER) WI 0.5NM RADIUS OF PSN 523752N 0010519W PILOTS ARE FORBIDDEN TO FLY UAS WI THE DESIGNATED AREA WITHOUT THE PERMISSION OF EMERGENCY CONTROLLING AUTHORITY LEICESTERSHIRE POLICE SER CTC TEL 101 REFERENCE 221/09022026. RESTRICTION OF FLYING REGULATIONS MADE UNDER ARTICLE 239 OF AIR NAV ORDER 2016. AR-2026-1021/03.
F) SFC G) 1000FT AMSL

H0669/26
MAR 05-MAR 28 0830-2000, MAR 29-JUN 02 0730-1900
FLYING OF LARGE MODEL ACFT WI 0.18NM RADIUS OF 523620N 0012748W (SIBSON). FOR INFO 07916 536553. AR-2026-1398/02.
F) SFC G) 1500FT AMSL

H0659/26
MAR 04-28 0800-2100, MAR 29-JUN 01 0700-2000
FLYING OF LARGE MODEL ACFT WI 1NM RADIUS OF 510718N 0021047W (MONKTON DEVERILL). FOR INFO 07962 013388. AR-2026-1376/01.
F) SFC G) 2300FT AMSL

V0012/26
SECURITY - HAZARDOUS SITUATION IN LEBANON. UK REGISTERED AIR OPERATORS ARE RECOMMENDED NOT TO ENTER FIR BEIRUT (OLBB). POTENTIAL RISK FROM HEIGHTENED MILITARY ACTIVITY. FOR MORE INFO CONTACT UK DEPARTMENT FOR TRANSPORT 02070 826639 OR 02079 443111 OUT OF HOURS. AR-2025-7732/01.
F) SFC G) UNL

J0312/26
TUE 0700-1600, WED-FRI 0700-1900, SAT 1400-2300
TEMPO **DANGER** AREA (TDA) EGD291A INSTALLED WI AREA BOUNDED BY STRAIGHT LINES JOINING:
523704N 0010751W - 523704N 0010749W - 523647N 0010749W - 523550N 0010736W - 523550N 0010741W - 523645N 0010752W - 523649N 0010755W - 523702N 0010826W - 523710N 0010846W - 523712N 0010844W - 523653N 0010758W - 523649N 0010752W - 523704N 0010751W (KNIGHTON FIELDS, LEICESTER). BEYOND VISUAL LINE OF SIGHT (BVLOS) UAS OPS WITHOUT VISUAL OBSERVERS CONTAINED WHOLLY WI THE TDA. MAX HGT 200FT AGL. EMERG SERVICES ACFT MAY ENTER THE AIRSPACE IN ACCORDANCE WITH LOCAL DECONFLICTION AGREEMENTS. FOR INFO 07484 424457. AR-2025-9316/24.
F) SFC G) 500FT AMSL

H0712/26
SR-SS
FLYING OF LARGE MODEL ACFT WI 0.8NM RADIUS OF 503439N 0033202W (ASHCOMBE). FOR INFO 07474 424630. AR-2026-1483/01.
F) SFC G) 2400FT AMSL

D0694/26
02-05 SS-SR, 06 SS-2359, 07 08 0001-2359, 09-13 SS-SR, 16-20 SS-SR
DANGER AREA EGD129 WESTON-ON-THE-GREEN **ACTIVATED**.
FOR INFO 07974 112143. AR-2026-1055/02.
F) SFC G) FL120

H0504/26
MAR 01-MAR 28 1800-0600, MAR 29-APR 30 1700-0500
FLARE FIRING WI 1NM RADIUS OF 513721N 0024544W (CAERWENT). FLARES WILL DESCEND BY PARACHUTE. FOR INFO 01874 635599. AR-2026-1072/01.
F) SFC G) 1600FT AMSL

H0502/26
MAR 01-28 0900-1600, MAR 29-APR 30 0800-1500
LIVE FIRING WI 1NM RADIUS OF 513403N 0024526W (ROGIET MOOR SMALL ARMS RANGE). INCREASE TO AIR **DANGER** HEIGHT. FOR INFO 01874 635599. AR-2026-1069/01.
F) SFC G) 900FT AMSL

J0430/26
0800-1800
TEMPO **DANGER** AREA (TDA) EGD390A INSTALLED WI 1.61NM RADIUS OF 535647N 0010421W (CLEMENTHORPE, YORK). BEYOND VISUAL LINE OF SIGHT UAS OPERATIONS CONTAINED WHOLLY WITHIN THE TDA. MAX HGT 400FT AGL. EMERG SERVICES ACFT MAY ENTER THE AIRSPACE IN ACCORDANCE WITH LOCAL DECONFLICTION AGREEMENTS. FOR INFO AROPS(AT)CAA.CO.UK. AR-2026-1395/01.
F) SFC G) 600FT AMSL

H9685/25
0930-1500
FLYING OF LARGE MODEL ACFT WI 1NM RADIUS OF 521126N 0002448W (RAVENSDEN). FOR INFO 07876 200320. AR-2025-7571/02.
F) SFC G) 1300FT AMSL

H0040/26
THU 1530-1630
MODEL ROCKET FIRING WI 1NM RADIUS OF 512249N 0005327W (ARBORFIELD, WOKINGHAM). LAUNCH SUBJ ATC CLR. FOR INFO 07816 522388. AR-2026-13/02.
F) SFC G) 700FT AMSL

H0595/26
SR-SS
FLYING OF LARGE MODEL ACFT WI 1NM RADIUS OF 505833N 0010222W (CHIDDEN). FOR INFO 07739 347722. AR-2026-1267/01.
F) SFC G) 2300FT AMSL

B0392/26
DANGER AREA EGD218B FAIRFORD IS MISSING FROM THE FOLLOWING 1:250,000 VFR CHARTS:
SHEET 6 ENGLAND EAST - EDITION 17 EFFECTIVE 10 JUL 25
SHEET 5 CENTRAL ENGLAND AND WALES - EDITION 16 EFFECTIVE 07 AUG 25
FURTHER DETAILS ARE **AVBL** VIA ENR 5.1 AND ON THE NATS INTERNET BRIEFING SERVICE
1:250K VFR CHART AMENDMENT PAGE
F) FL050 G) FL240

H0691/26
SR-SS
UAS OPR WI 1NM RADIUS OF 510636N 0020223W (CHILMARK, WILTSHIRE). MAX HGT 1000FT AGL. OPERATING DAYLIGHT HOURS ONLY. FOR INFO OR SCHEDULE 07826 918598. AR-2026-1444/01.
F) SFC G) 1700FT AMSL

H0692/26
FEB 25-MAR 28 0700-2300, MAR 29-MAY 25 0600-2200
UAS OPR BEYOND VISUAL LINE OF SIGHT (BVLOS) UTILISING VISUAL OBSERVERS (EXTENDED LINE OF SIGHT) WI 1NM RADIUS OF 522408N 0001405W (WOOD WALTON, CAMBRIDGESHIRE). MAX HGT 400FT AGL. FOR INFO 07970 676628. AR-2026-1437/01.
F) SFC G) 600FT AMSL

H0492/26
FEB 23 - MAR 28 0700-2359, MAR 29 - MAY 22 0600-2259
UAS OPR WI 0.1NM RADIUS OF 512046N 0010830W (TADLEY). MAX HGT 300FT AGL. FOR INFO 07757 140487. AR-2026-1039/01.
F) SFC G) 700FT AMSL

H0529/26
FEB 22-MAR 28 0800-1800, MAR 29-MAY 22 0700-1700
UAS OPR BEYOND VISUAL LINE OF SIGHT (BVLOS) UTILISING VISUAL OBSERVERS (EXTENDED LINE OF SIGHT) WI AREA BOUNDED BY STRAIGHT LINES JOINING
514806N 0005056W - 514831N 0005000W - 514803N 0004932W - 514722N 0004825W - 514655N 0004725W - 514639N 0004625W - 514622N 0004532W - 514601N 0004508W - 514529N 0004420W - 514501N 0004340W - 514413N 0004301W - 514258N 0004137W - 514244N 0004121W - 514222N 0004213W - 514305N 0004242W - 514337N 0004312W - 514413N 0004353W - 514447N 0004424W - 514519N 0004457W - 514556N 0004610W - 514624N 0004720W - 514646N 0004827W - 514703N 0004907W - 514806N 0005056W
(BISHOPSTONE TO SOUTH HEATH). MAX HGT 500FT AGL. FOR INFO 074647 13829. AR-2026-1157/02.
F) SFC G) 1300FT AMSL

H0386/26
SR-SS
FLYING OF LARGE MODEL ACFT WI 1NM RADIUS OF 510652N 0021702W (NORTON FERRIS). FOR INFO 07812 707597. AR-2026-773/01.
F) SFC G) 2400FT AMSL

H0292/26
0930-1800
FLYING OF LARGE MODEL ACFT WI 1NM RADIUS OF 521200N 0002130W (COLMWORTH, BEDFORDSHIRE). FOR INFO 07876 200320 / 07785 397346. AR-2026-541/01.
F) SFC G) 1300FT AMSL

H0195/26
FEB 21-MAR 28 0900-2200, MAR 29-MAY 21 0800-2100
FLYING OF LARGE MODEL ACFT WI 1NM RADIUS OF 522930N 0010010W (LAUGHTON). FOR INFO 07824 862575. AR-2025-7013/04.
F) SFC G) 2100FT AMSL

H0643/26
SR-SS
FLYING OF LARGE MODEL ACFT WI 1NM RADIUS OF 515906N 0000951W (BALDOCK, HERTFORDSHIRE). FOR INFO 07710 924721. AR-2026-1362/02.
F) SFC G) 2000FT AMSL

H0642/26
SR-SS
FLYING OF LARGE MODEL ACFT WI 1NM RADIUS OF 514301N 0001544W (SHENLEY, HERTFORDSHIRE). FOR INFO 07710 924721. AR-2026-1359/01.
F) SFC G) 2000FT AMSL

H0644/26
SR-SS
FLYING OF LARGE MODEL ACFT WI 1NM RADIUS OF 525528N 0005747E (BINHAM). FOR INFO 07710 924721. AR-2026-1364/01.
F) SFC G) 1700FT AMSL

V0009/26
SECURITY - HAZARDOUS SITUATION IN LIBYA
UK REGISTERED AIR OPERATORS ARE RECOMMENDED NOT TO ENTER FIR TRIPOLI (HLLL). POTENTIAL RISK FROM ANTI-AIRCRAFT WEAPONRY.
THIS SUPERSEDES THE ADVICE IN THE CURRENT UK AIP.
UK AIP ENR 1.1. PARA 1.4.5 REFERS.
F) SFC G) UNL

H0615/26
SR-SS
UNMANNED CAPTIVE BALLOON WI 1NM RADIUS OF PSN 545800N 0014143W (GATESHEAD, TYNE AND WEAR) IN LOW FLYING AREA 12 AND NIGHT SECTOR 4AS. MAX HGT 200FT AGL. 26/02/093/LFTP
F) SFC G) 600FT AMSL

H0556/26
FEB 17 - MAR 28 1200-2359, MAR 29 - MAY 17 1100-2259
UAS SWARM OPR WI 0.2NM RADIUS OF 511817N 0021844W (NORTON SAINT PHILIP). SWARM MADE UP OF 1000 UAS. MAX HGT 400FT AGL. FOR INFO 079153 11799. AR-2026-1200/01.
F) SFC G) 800FT AMSL

H0397/26
SR-SS
FLYING OF LARGE MODEL ACFT WI 0.3NM RADIUS OF 514901N 0015625W (CHEDWORTH ABANDONED AD). FOR INFO 07816 506828. AR-2026-796/01.
F) SFC G) 2400FT AMSL

H0460/26
FEB 16 - MAR 28 1000-2330, MAR 29 - MAY 16 0900-2230
UAS SWARM OPR WI 0.1NM RADIUS OF 514518N 0001546W (SMALLFORD, HATFIELD). SWARM MADE UP OF 600 UAS. MAX HGT 400FT AGL.
FOR INFO 07738 612566. AR-2026-965/01.
F) SFC G) 700FT AMSL

H0412/26
FEB 07 - MAR 28 1000-1900, MAR 29 - MAY 07 0900-1800
FLYING OF LARGE MODEL ACFT WI 0.5NM RADIUS OF 543321N 0010408W (GUISBOROUGH). INCLUDES HIGH SPEED GAS TURBINE MODELS. FOR INFO 07528 971745. AR-2026-847/02.
F) SFC G) 1500FT AMSL

B0254/26
THE FOLLOWING UAS RESTRICTED AREAS HAVE BEEN REMOVED FROM THE AIP WEF 19 FEBRUARY 2026
EGRU185 NSA BOSCOMBE DOWN
EGRU268 NSA BRIZE NORTON
EGRU354 NSA CONINGSBY
EGRU707 NSA KYLE OF LOCHALSH
EGRU708 NSA LOSSIEMOUTH
EGRU276 NSA MARHAM
EGRU280 NSA PONTRILAS
ERGU356 NSA WADDINGTON
UK AIP ENR 5.1 REFERS.
F) SFC G) 1000FT AMSL

V0005/26
SECURITY - HAZARDOUS SITUATION IN THE DEMOCRATIC REPUBLIC OF THE CONGO. UK REGISTERED AIR OPERATORS ARE RECOMMENDED NOT TO ENTER FIR KINSHASA (FZZA) WITHIN 200NM OF THE EASTERN BOUNDARY, BETWEEN THE 1ST PARALLEL NORTH AND THE 5TH PARALLEL SOUTH. POTENTIAL RISK FROM ANTI-AIRCRAFT WEAPONRY. AR-2025-3565/03.
UK AIP ENR 1.1 PARA 1.4.5 REFERS.
F) SFC G) UNL

H0418/26
FEB 04 - MAR 28 0900-2100, MAR 29 - MAY 03 0800-2000
FLYING OF LARGE MODEL ACFT WI 0.27NM RADIUS OF 532854N 0022839W (GLAZEBURY, CHESHIRE). FOR INFO 07969 460032. AR-2026-866/01.
F) SFC G) 2100FT AMSL

H0385/26
FEB 03-MAR 28 1000-1800, MAR 29-MAY 03 0900-1700
FLYING OF LARGE MODEL ACFT WI 1NM RADIUS OF 514105N 0000741W (BOTANY BAY). FOR INFO 07886 138027. AR-2026-777/01.
F) SFC G) 1400FT AMSL

H0335/26
FEB 02 - MAR 28 0800-1700, MAR 29 - APR 30 0700-1600
UAS OPR WI 2.5NM RADIUS OF 542214N 0014612W (CATTERICK GARRISON). MAX HGT 400FT AGL. FOR INFO 01748 87 5503. AR-2026-650/01.
F) SFC G) 1500FT AMSL

H0329/26
JAN 29-MAR 28 0800-1800, MAR 29-APR 29 0700-1700
UAS OPR WI AREA BOUNDED BY STRAIGHT LINES JOINING
512837N 0011752W - 512828N 0011738W - 512811N 0011732W -
512758N 0011800W - 512744N 0011807W - 512748N 0011828W -
512811N 0011835W - 512821N 0011832W - 512825N 0011811W -
512833N 0011807W - 512837N 0011752W (CHIEVELEY). MAX HGT 900FT
AGL. FOR INFO 07342 386615. AR-2026-631/01.
F) SFC G) 1400FT AMSL

H0252/26
JAN 28 31 FEB 04 07 11 14 18 21 25 28 MAR 04 07 11 14 18 21 25 28
, 1000-1700, APR 01 04 08 11 15 18 22 25 0900-1600
FLYING OF LARGE MODEL ACFT WI 0.55NM RADIUS OF 540817N 0012500W
(DISHFORTH). FOR INFO 07749 736802. AR-2026-458/01.
F) SFC G) 1700FT AMSL

H0078/26
JAN 27-MAR 28 1000-2359, MAR 29-APR 25 0900-2259
UAS SWARM OPR WI 1NM RADIUS OF 530716N 0010120W (BILSTHORPE).
SWARM MADE UP OF 500 UAS. MAX HGT 600FT AGL.
FOR INFO 07547 155440. AR-2026-111/01.
F) SFC G) 1000FT AMSL

H0086/26
SAT SUN 1000-1800
FLYING OF LARGE MODEL ACFT WI 0.3NM RADIUS OF 504838N 0005525W
(THORNEY ISLAND). FOR INFO 07906 078495 / 07808 926007.
AR-2026-138/01.
F) SFC G) 1300FT AMSL

H0163/26
22 JAN - 28 MAR 0700-2100, 29 MAR - 21 APR 0600-2000
FLYING OF LARGE MODEL ACFT WI 0.5NM RADIUS OF 534202N 0011955W
(PONTEFRACT PARK, PONTEFRACT). FOR INFO 07802 725231.
AR-2026-211/01.
F) SFC G) 1800FT AMSL

H0197/26
JAN 20-MAR 28 0800-1900, MAR 29-APR 18 0900-2000
FLYING OF LARGE MODEL ACFT WI 0.6NM RADIUS OF 505533N 0020117W
(CASHMOOR). FOR INFO 07909022800. AR-2026-344/01.
F) SFC G) 1900FT AMSL

H0226/26
FLARE FIRING WI 2NM RADIUS OF 542211N 0014603W
(CATTERICK GARRISON). FLARES WILL DESCEND BY PARACHUTE. FOR INFO
01748 875503. AR-2026-401/01.
F) SFC G) 2100FT AMSL

H0219/26
JAN 19-MAR 28 0800-2230, MAR 29-APR 14 0700-2130
FLYING OF LARGE MODEL ACFT WI 1NM RADIUS OF 521435N 0012040W
(SOUTHAM, WARWICKSHIRE). FOR INFO 07801 281492. AR-2026-383/01.
F) SFC G) 2100FT AMSL

H0181/26
SR-SS
FLYING OF LARGE MODEL ACFT WI 0.5NM RADIUS OF 522358N 0000615W
(WARBOYS). FOR INFO 07586 292737. AR-2026-311/01.
F) SFC G) 1700FT AMSL

H0131/26
17 JAN-28 MAR 0800-2100, 29 MAR-14 APR 0700-2000
FLYING OF LARGE MODEL ACFT WI 1NM RADIUS OF 514232N 0000753W
(CUFFLEY). FOR INFO 07496 769327 / 07733 112937. AR-2026-209/01.
F) SFC G) 1700FT AMSL

V0004/26
NATIONAL SECURITY / SAFETY - AFGHANISTAN. UK CIVIL AIR OPERATORS ARE STILL REQUIRED TO CONSIDER THE ICAO CONTINGENCY COORDINATION TEAM BULLETIN 14 DATED 06 OCT 2025 FOR FLIGHT PLANNING AND OPERATIONAL PURPOSES. FOR INFO CTC 02079 443111. AR-2026-368/02.
F) SFC G) UNL

H0196/26
JAN 15-MAR 28 1000-2100, MAR 29-31 0900-2000
FLYING OF LARGE MODEL ACFT WI 1NM RADIUS OF 531943N 0004728W (LITTLEBOROUGH). FOR INFO 07710 863042 / 07865 936556. AR-2025-10064/02.
F) SFC G) 1300FT AMSL

H0194/26
JAN 15 0911-1700, JAN 16-MAR 28 0900-1700, MAR 29-30 0800-1600
FLYING OF LARGE MODEL ACFT WI 1NM RADIUS OF 513448N 0013008W (SPARSHOLT). FOR INFO 07454 733211. AR-2025-10070/02.
F) SFC G) 2200FT AMSL

H0143/26
JAN 13-MAR 28 0800-1800, MAR 29-APR 08 0700-1700
UAS OPR BEYOND VISUAL LINE OF SIGHT (BVLOS) UTILISING VISUAL OBSERVERS (EXTENDED LINE OF SIGHT) WI 0.8NM RADIUS OF 521117N 0012724E (FARNHAM). MAX HGT 657FT AGL. FOR INFO 07818 502243. AR-2026-225/01.
F) SFC G) 800FT AMSL

H0142/26
JAN 13-MAR 28 0800-1800, MAR 29-APR 08 0700-1700
UAS OPR BEYOND VISUAL LINE OF SIGHT (BVLOS) UTILISING VISUAL OBSERVERS (EXTENDED LINE OF SIGHT) WI AREA BOUNDED BY STRAIGHT LINES JOINING 521741N 0013228E - 521730N 0013256E - 521531N 0013101E - 521519N 0013125E - 521538N 0013158E - 521528N 0013213E - 521507N 0013226E - 521502N 0013256E - 521451N 0013316E - 521446N 0013344E - 521442N 0013404E - 521341N 0013500E - 521328N 0013442E - 521349N 0013411E - 521345N 0013327E - 521408N 0013304E - 521430N 0013257E - 521457N 0013156E - 521453N 0013140E - 521455N 0013051E - 521447N 0012955E - 521524N 0012944E - 521703N 0013118E - 521741N 0013228E
(BRAMFIELD TO SIZEWELL). MAX HGT 657FT AGL. FOR INFO 07818502243. AR-2026-224/01.
F) SFC G) 800FT AMSL

H0144/26
JAN 13-MAR 28 0800-1800, MAR 29-APR 08 0700-1700
UAS OPR BEYOND VISUAL LINE OF SIGHT (BVLOS) UTILISING VISUAL OBSERVERS (EXTENDED LINE OF SIGHT) WI 0.5NM RADIUS OF 520950N 0012303E (WICKHAM MARKET, SUFFOLK). MAX HGT 657FT AGL. FOR INFO 07818 502243. AR-2026-228/01.
F) SFC G) 800FT AMSL

H0145/26
JAN 13-MAR 28 0800-1800, MAR 29-APR 08 0700-1700
UAS OPR BEYOND VISUAL LINE OF SIGHT (BVLOS) UTILISING VISUAL OBSERVERS (EXTENDED LINE OF SIGHT) WI AREA BOUNDED BY STRAIGHT LINES JOINING 521401N 0013730E - 521245N 0013744E - 521244N 0013653E - 521228N 0013658E - 521219N 0013640E - 521211N 0013609E - 521205N 0013607E - 521205N 0013554E - 521234N 0013500E - 521253N 0013447E - 521252N 0013359E - 521238N 0013357E - 521242N 0013317E - 521250N 0013319E - 521312N 0013348E - 521321N 0013345E - 521327N 0013422E - 521332N 0013459E - 521359N 0013533E - 521419N 0013620E - 521401N 0013730E (LEISTON TO SIZEWELL).
MAX HGT 657FT AGL. FOR INFO 07818502243. AR-2026-223/01.
F) SFC G) 800FT AMSL

H0146/26
JAN 13-MAR 28 0800-1800, MAR 29-APR 08 0700-1700
UAS OPR BEYOND VISUAL LINE OF SIGHT (BVLOS) UTILISING VISUAL
OBSERVERS (EXTENDED LINE OF SIGHT) WI 0.2NM RADIUS OF
522008N 0013027E (HALESWORTH, SUFFOLK). MAX HGT 657FT AGL.
FOR INFO 07818 502243. AR-2026-226/01.
F) SFC G) 800FT AMSL

H0141/26
SR-SS
UAS OPR BEYOND VISUAL LINE OF SIGHT (BVLOS) UTILISING VISUAL
OBSERVERS (EXTENDED LINE OF SIGHT) WI AREA BOUNDED BY STRAIGHT
LINES JOINING 521401N 0013730E - 521245N 0013744E -
521244N 0013653E - 521228N 0013658E - 521219N 0013640E -
521211N 0013609E - 521205N 0013607E - 521205N 0013554E -
521234N 0013500E - 521253N 0013447E - 521252N 0013359E -
521238N 0013357E - 521242N 0013317E - 521250N 0013319E -
521312N 0013348E - 521321N 0013345E - 521327N 0013422E -
521332N 0013459E - 521359N 0013533E - 521419N 0013620E -
521401N 0013730E (SIZEWELL). MAX HGT 657FT AGL.
FOR INFO 07818 502243. AR-2026-220/01.
F) SFC G) 800FT AMSL

H0029/26
SR-SS
UAS OPR WI 1NM RADIUS OF 515056N 0005818W (WADDESDON). BEYOND
VISUAL LINE OF SIGHT. MAX HGT 50FT AGL. FOR INFO 07894 568601 /
07852 318946. AR-2025-9914/04.
F) SFC G) 500FT AMSL

H0115/26
JAN 12-MAR 28 0600-2359, MAR 29-APR 10 0500-2259
LIVE FIRING WI 1NM RADIUS OF 514910N 0011008W (OTMOOR SMALL ARMS
RANGE). INCREASE TO AIR **DANGER** HEIGHT. FOR INFO CONTACT 07970
337862 OR 07717 542388. AR-2026-163/02.
F) SFC G) 1000FT AMSL

H0060/26
JAN 11 - MAR 28 0900-2000, MAR 29 - APR 10 0800-1900
FLYING OF LARGE MODEL ACFT WI 0.13NM RADIUS OF 524451N 0025108W
(MONTFORD BRIDGE). FOR INFO 07909 511031. AR-2026-95/01.
F) SFC G) 1800FT AMSL

H0024/26
SR-SS
FLYING OF LARGE MODEL ACFT WI 1NM RADIUS OF 522242N 0005308E
(KNETTISHALL). FOR INFO 00447914094525. AR-2026-36/01.
F) SFC G) 1200FT AMSL

H0116/26
KIRTON-IN-LINDSEY GLIDER SITE, LINCS PSN 532745N 0003436W
SFC-2000FT AGL, SITE NO LONGER **ACTIVE**. UK AIP ENR 5.5, VFR CHARTS
REFERS.
F) SFC G) 2203FT AMSL

H0023/26
SR-SS
FLYING OF LARGE MODEL ACFT WI 1NM RADIUS OF 515909N 0020454W
(ASHCHURCH). FOR INFO 07778 034399. AR-2025-10111/02.
F) SFC G) 1700FT AMSL

H0030/26
JAN 07-MAR 28 0700-1800, MAR 29-APR 06 0600-1700
UAS OPR BEYOND VISUAL LINE OF SIGHT (BVLOS) UTILISING VISUAL OBSERVERS (EXTENDED LINE OF SIGHT) WI AREA BOUNDED BY STRAIGHT LINES JOINING 521406N 0013555E - 521401N 0013737E - 521303N 0013726E - 521304N 0013642E - 521237N 0013643E - 521233N 0013725E - 521222N 0013723E - 521214N 0013607E - 521234N 0013500E - 521247N 0013301E - 521406N 0013555E (SIZEWELL). MAX HGT 500FT AGL. FOR INFO 07464 713829. AR-2026-7/03.
F) SFC G) 600FT AMSL

H9695/25
1200-2300
UAS SWARM OPR WI 0.4NM RADIUS OF 504455N 0004605W (CHURCH NORTON). SWARM MADE UP OF 100 UAS. MAX HGT 600FT AGL. FOR INFO 01243 908031. AR-2025-9845/01.
F) SFC G) 700FT AMSL

H9383/25
SR-SS
FLYING OF LARGE MODEL ACFT WI 1NM RADIUS OF 540815N 0002238W (WOLD NEWTON). FOR INFO 07483 223878. AR-2025-9554/01.
F) SFC G) 1600FT AMSL

H9629/25
0800-1700
FLYING OF LARGE MODEL ACFT WI 0.5NM RADIUS OF 533943N 0003340W (WINTERTON). FOR INFO 07508 525011. AR-2025-10010/01.
F) SFC G) 1600FT AMSL

EXTENDED AREA AROUND DESTINATION ALTERNATE AIRPORT(S)

EGTT LONDON FIR/UIR

Please see section EXTENDED AREA AROUND DESTINATION

AREA ENROUTE DEPARTURE - DESTINATION

EGTT LONDON FIR/UIR

Please see section EXTENDED AREA AROUND DESTINATION

[Company NOTAM]

==========
CREW ALERT
==========

SB007/14
SUBJECT: AUTO COST INDEXES
WHEN PLANNING A COST INDEX, 2 OPTIONS ARE AVAILABLE. PILOTS MAY EITHER SELECT A SPECIFIC COST INDEX NUMBER FROM THE LIST, OR THEY MAY SELECT "AUTO". WHEN PLANNING AN "AUTO" COST INDEX, THE SYSTEM WILL REFERENCE THE SCHEDULED "TIME ENROUTE" OPTION AND ATTEMPT TO CHOOSE A COST INDEX WHICH CLOSELY MATCHES THIS VALUE. NOTE THAT THE "TIME ENROUTE" OPTION IS MEANT AS A GATE TO GATE TIME (AS INDICATED ON AN AIRLINE'S FLIGHT SCHEDULE, FOR EXAMPLE). IF A "TIME ENROUTE" OF 2:30 IS SELECTED, THE SYSTEM WILL SUBTRACT THE TAXI TIMES FROM THIS VALUE TO DETERMINE THE SCHEDULED AIR TIME. IT WILL THEN DETERMINE AND USE THE COST INDEX WHICH MATCHES THIS AIR TIME.

SB003/13
SUBJECT: FLIGHT RELEASE UNITS
ALL FLIGHT CREW: PLEASE PAY SPECIAL ATTENTION TO THE UNITS SELECTION WHEN GENERATING A FLIGHT PLAN. FAILURE TO IDENTIFY THE CORRECT UNITS WHEN REFUELING PRIOR TO FLIGHT CAN RESULT IN DEPARTING WITH INSUFFICIENT FUEL AND/OR AN ERRONEOUS PAYLOAD.

==========
CREW BULLETIN
==========

NIL

========== END OF LIDO-NOTAM-BULLETIN ==========

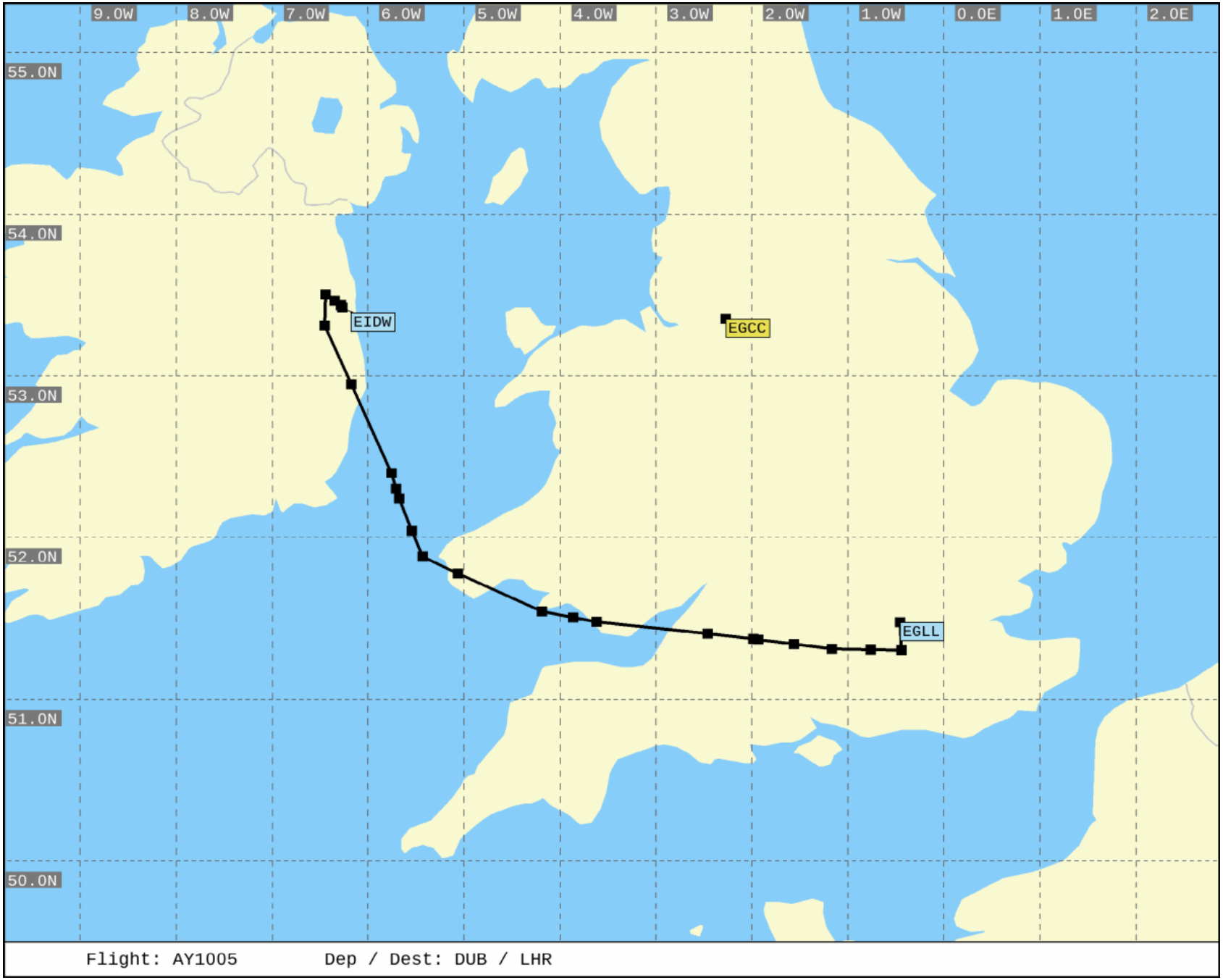
9.0W
8.0W
7.0W
6.0W
5.0W
4.0W
3.0W
2.0W
1.0W
0.0E
1.0E
2.0E
55.0N
54.0N
53.0N
52.0N
51.0N
50.0N
EIDW
EGCC
EGLL
Flight: AY1005
Dep / Dest: DUB / LHR

SIG WX FL 100-450 WASHINGTON
VALID 18 UTC ON 19.Mar.2026

Flight: AY1005 Dep / Dest: DUB / LHR

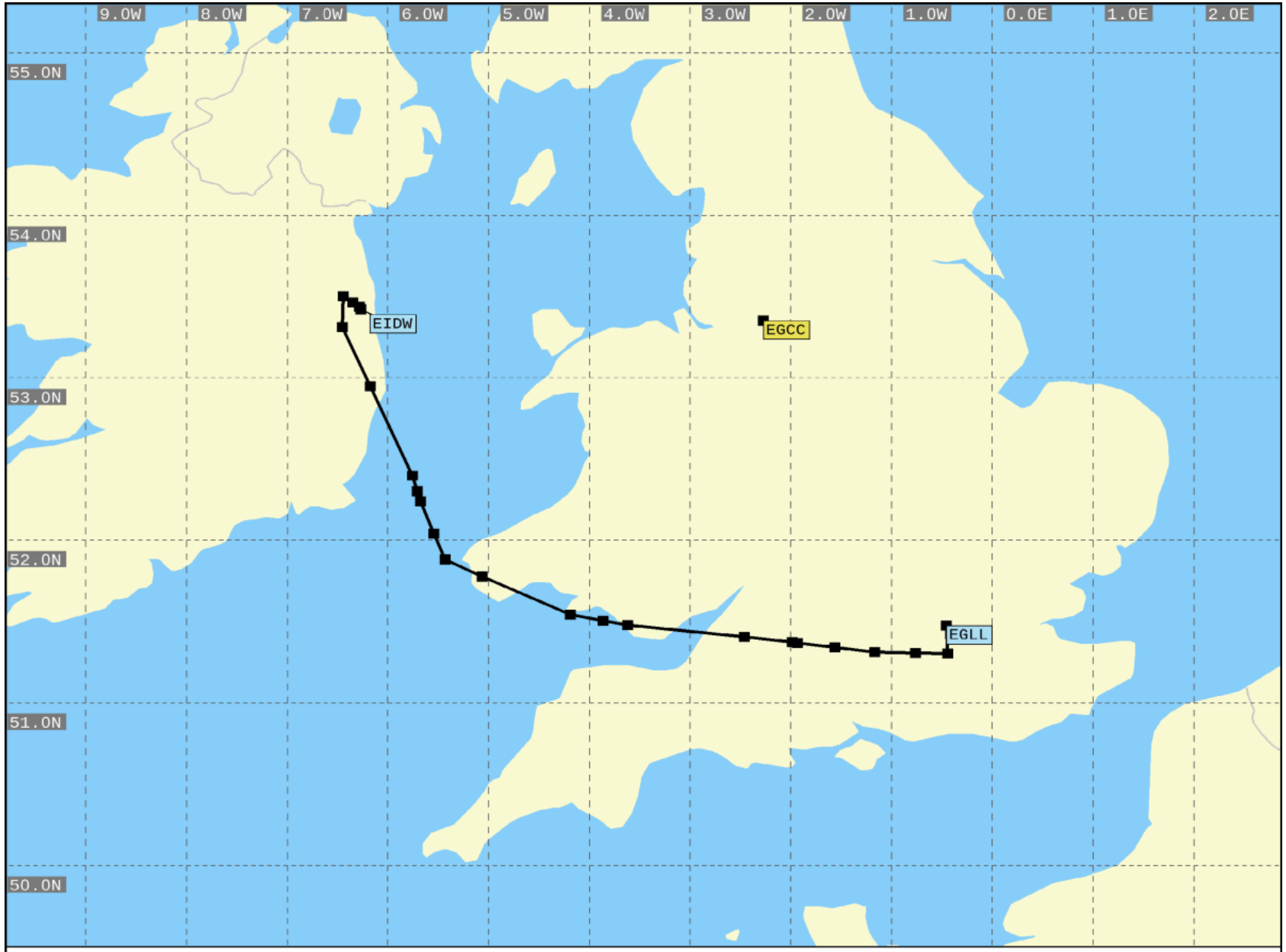

SIG WX FL 250-630 WASHINGTON
VALID 18 UTC ON 19.Mar.2026

Flight: AY1005 Dep / Dest: DUB / LHR

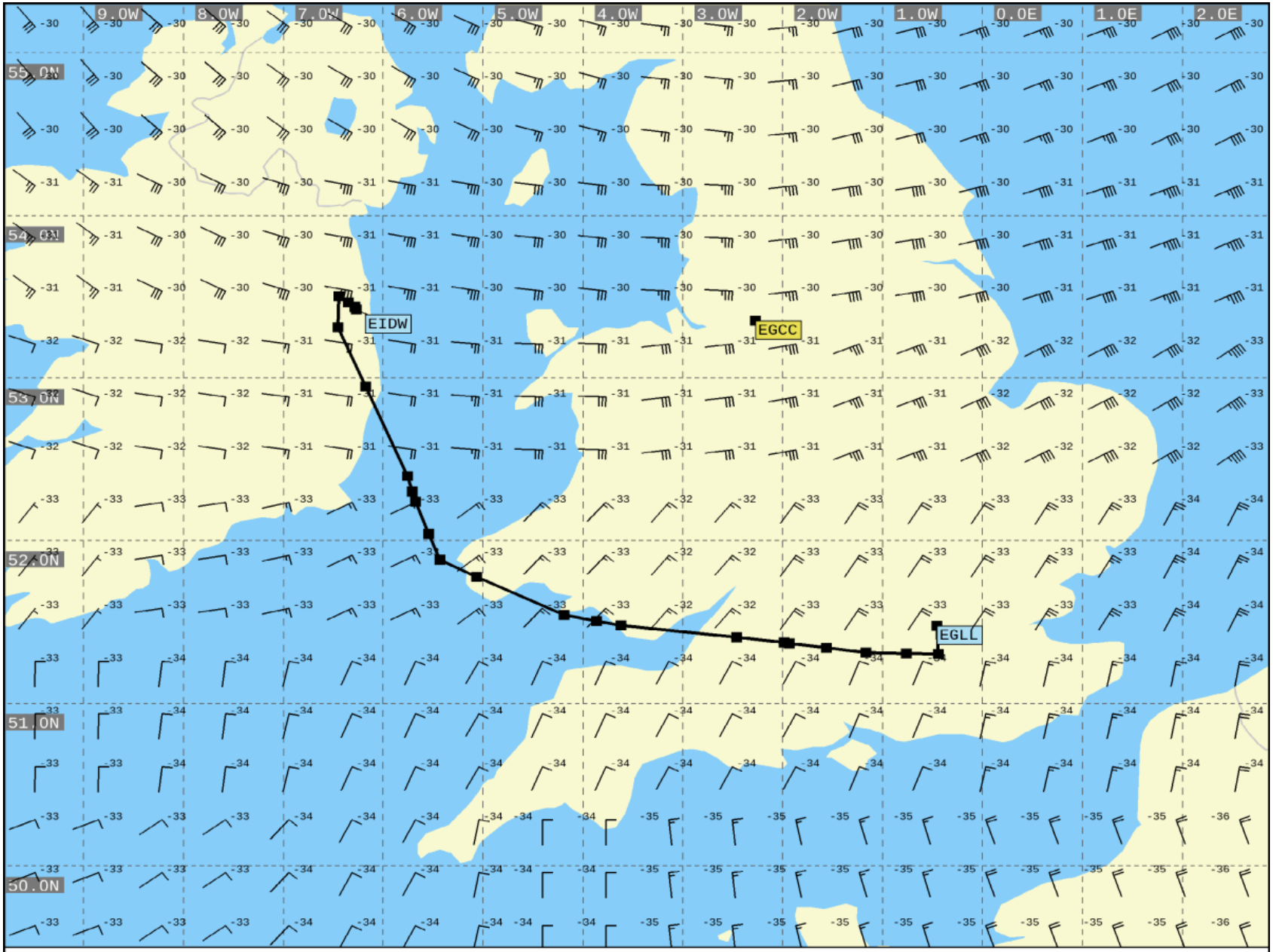

UAD VALID 00 UTC ON 20.Mar.2026 06h FL 240

Flight: AY1005 Dep / Dest: DUB / LHR

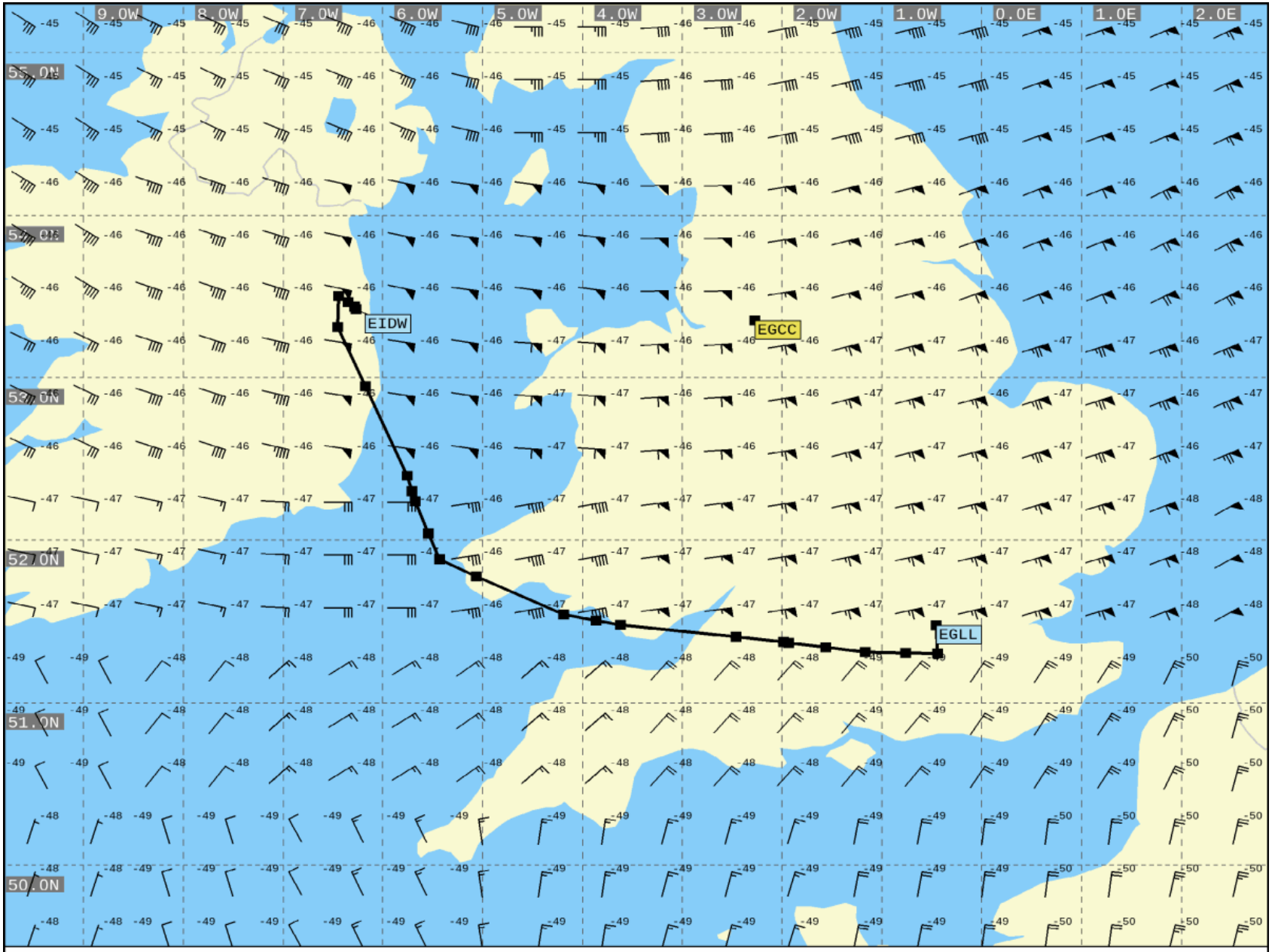

UAD VALID 00 UTC ON 20.Mar.2026 06h FL 300

Flight: AY1005 Dep / Dest: DUB / LHR

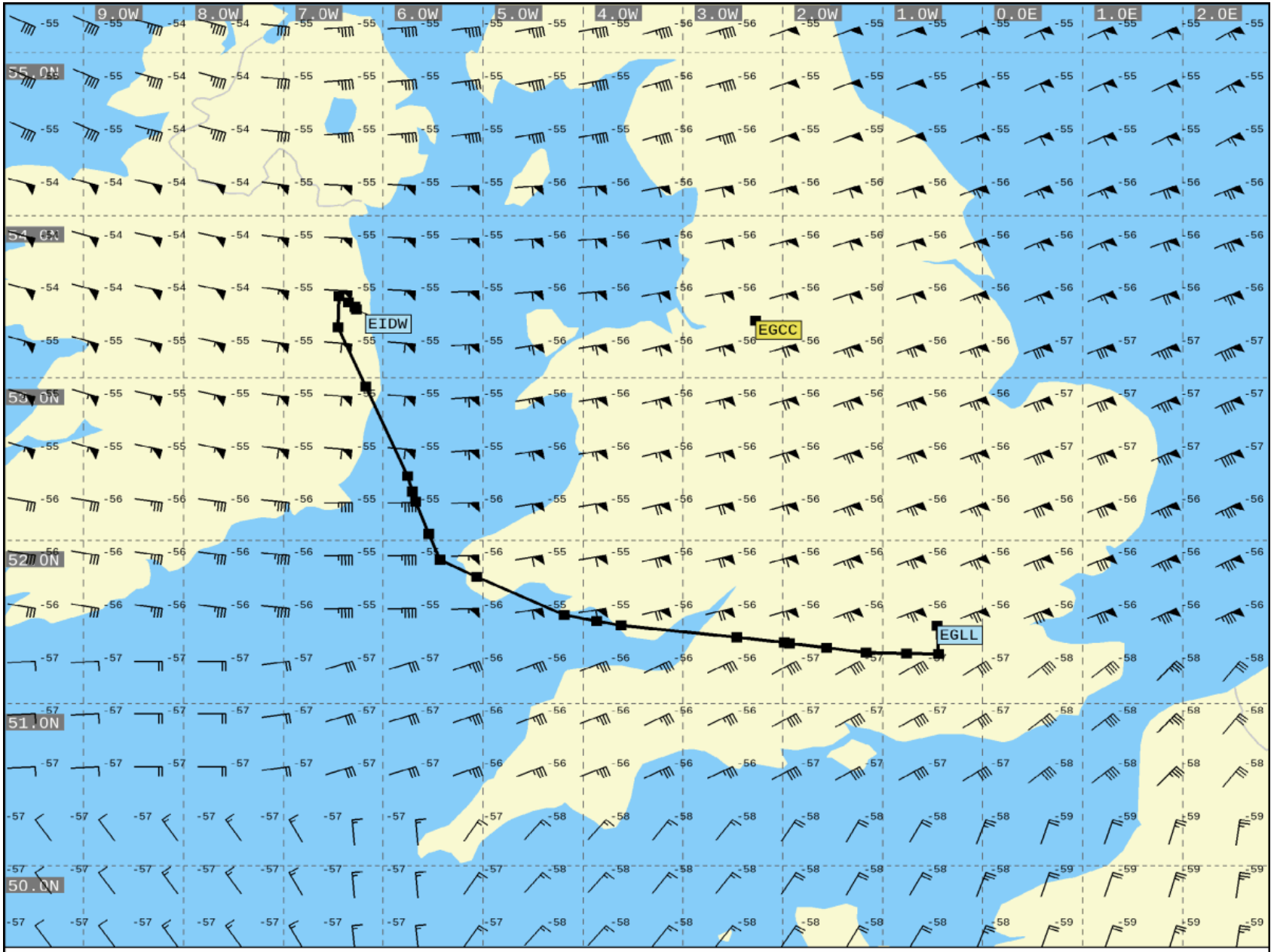

UAD VALID 00 UTC ON 20.Mar.2026 06h FL 340

Flight: AY1005 Dep / Dest: DUB / LHR

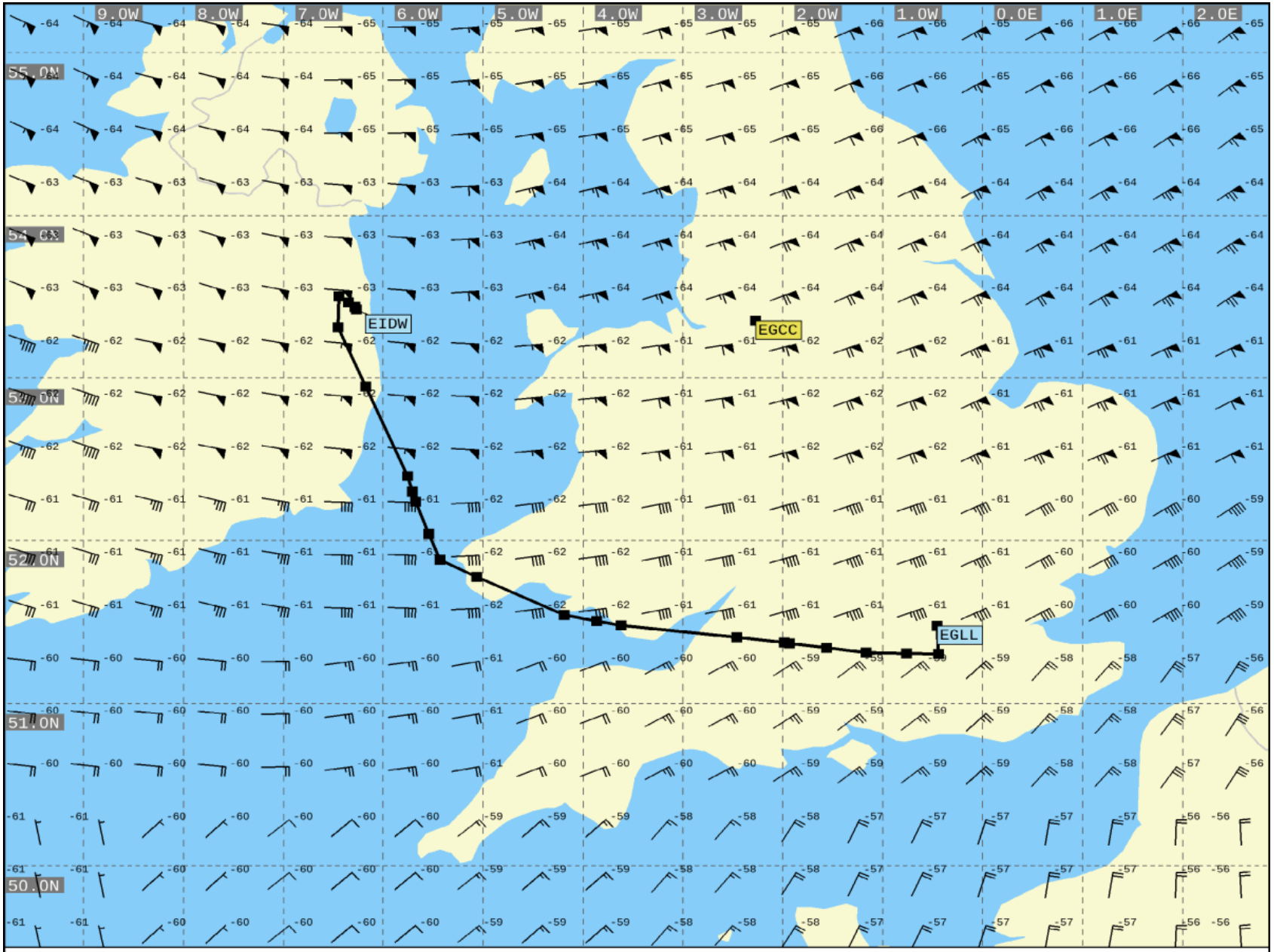

UAD VALID 00 UTC ON 20.Mar.2026 06h FL 390

Flight: AY1005 Dep / Dest: DUB / LHR



Profile VALID 00 UTC ON 20.Mar.2026 06h Average

Flight: AY1005 Dep / Dest: DUB / LHR

End of Document: Total Number of Pages: 49