[OFP]

```
---------------------------------------------------------------------
FIN1012   20APR2026    ELLX-LSZH   A333 N339SB  RELEASE 1550 20APR26
OFP 1            LUXEMBOURG-ZURICH
                        WX PROG 2015 2018 2021   OBS 2012 2012 2012

  ATC C/S   FIN1012      ELLX/LUX   LSZH/ZRH      CRZ SYS      CI 24
20APR2026   N339SB       1625/1645  1718/1726     GND DIST       183
A330-300 / TRENT 772                STA  1730     AIR DIST       167
                        CTOT:....                 G/C DIST       160
                                                  AVG WIND   291/043
MAXIMUM    TOW 233000  LAW 187000  ZFW 175000     AVG W/C       P028
ESTIMATED  TOW 168757  LAW 165437  ZFW 158183     AVG ISA       M003
                                                  AVG FF KGS/HR 5943
                                                  FUEL BIAS    P00.0
ALTN LSGG                                         TKOF ALTN  .......
FL STEPS ELLX/0230/
---------------------------------------------------------------------
DISP RMKS   NIL

---------------------------------------------------------------------
         PLANNED FUEL
---------------------------------
FUEL           ARPT   FUEL   TIME
---------------------------------
TRIP            ZRH   3320   0033
CONT 15 MIN           1486   0015
ALTN            GVA   3570   0043
FINRES                2198   0030
---------------------------------
MINIMUM T/OFF FUEL   10574   0202
---------------------------------
EXTRA                    0   0000
---------------------------------
T/OFF FUEL           10574   0202
TAXI            LUX    544   0020
---------------------------------
BLOCK FUEL      LUX  11118
PIC EXTRA            .....
TOTAL FUEL           .....
REASON FOR PIC EXTRA ............
---------------------------------------------------------------------
FMC INFO:
FINRES+ALTN           5768
TRIP+TAXI             3864
---------------------------------------------------------------------
NO TANKERING RECOMMENDED (P)
---------------------------------------------------------------------
I HEREWITH CONFIRM THAT I HAVE PERFORMED A THOROUGH SELF BRIEFING
ABOUT THE DESTINATION AND ALTERNATE AIRPORTS OF THIS FLIGHT
INCLUDING THE APPLICABLE INSTRUMENT APPROACH PROCEDURES, AIRPORT
FACILITIES, NOTAMS AND ALL OTHER RELEVANT PARTICULAR INFORMATION.

DISPATCHER: ALVIN ROBERTSON             PIC NAME: GM, PAYAM

TEL: +1 800 555 0199               PIC SIGNATURE: ...............
```

```
ALTERNATE ROUTE TO:                                          FINRES   2198
APT      TRK DST              VIA                        FL  WC  TIME  FUEL
-----------------------------------------------------------------------
LSGG/04  234 179  DCT VEBIT T50 ROTOS Z669            080 M005 0043  3570
                  ULMES ULMES1N
-----------------------------------------------------------------------

MEL/CDL ITEMS DESCRIPTION
------------- -----------

-----------------------------------------------------------------------

ROUTING:

ROUTE ID: DEFRTE
ELLX/06 GTQ3P GTQ DCT BAMEV DCT BLM BLM3G LSZH/14

-----------------------------------------------------------------------
DEPARTURE ATC CLEARANCE:
.
.
.
-----------------------------------------------------------------------
                         OPERATIONAL IMPACTS
                         -------------------
WEIGHT CHANGE UP 1.0          TRIP  P 0018 KGS   TIME M 0000
WEIGHT CHANGE DN 1.0          TRIP  M 0009 KGS   TIME P 0000
FL CHANGE     UP FL1                 NOT AVAILABLE
FL CHANGE     DN FL1          TRIP  P 0016 KGS   TIME P 0000
FL CHANGE     DN FL2          TRIP  P 0032 KGS   TIME P 0002
SPD CHANGE    CI 0            TRIP  M 0026 KGS   TIME P 0000
SPD CHANGE    CI 300          TRIP  P 0095 KGS   TIME M 0001
-----------------------------------------------------------------------
```

```
-----------------------------------------------------------------------
ATIS:
.
.
--------- --------- --------- --------- --------- --------- --------
RVSM: ALT SYS  LEFT:             STBY:             RIGHT:

--------- --------- --------- --------- --------- --------- --------
-----------------------------------------------------------------------
                                TIMES
                                -----

               ESTIMATED        SKED              ACTUAL

OUT            1625Z/1825L      1625Z/1825L       ......Z

OFF            1645Z/1845L      1645Z/1845L       ......Z

ON             1718Z/1918L      1722Z/1922L       ......Z

IN             1726Z/1926L      1730Z/1930L       ......Z

BLOCK TIME     0101             0105              ......

-----------------------------------------------------------------------
                               WEIGHTS
                               -------

                EST      MAX     ACTUAL

PAX             296              ......

BAG/CARGO       7.4              ......

PAYLOAD        30.9              ......

ZFW           158.2    175.0     ......

FUEL           11.1     32.7     ......  POSS EXTRA 21.6

TOW           168.8    190.3  LDG......

STAB TRIM                        ......

LAW           165.4    187.0     ......

-----------------------------------------------------------------------
                       TERRAIN CLEARANCE CHECK
                       -----------------------
DD CHECK - TERRAIN CLEARANCE CHECK DISABLED

DP CHECK - TERRAIN CLEARANCE CHECK DISABLED
-----------------------------------------------------------------------
```

FLIGHT LOG

MOST CRITICAL MORA 06100 FEET AT GTQ///MXSHR 04 AT TOC

AWY POSITION IDENT FREQ	LAT LONG	EET TTLT	ETO ATO	FL MORA DIS	IMT ITT RDIS	MN TAS GS	WIND COMP SHR	OAT TDV TRP	EFOB AFOB	PBRN ABRN
					056				10.6	0.5
LUXEMBOURG	N4937.4		...	35	059		M009			
ELLX	E00612.3	0000	...		183	249			....	....
GTQ3P				027	123	.39	017/012	05	10.1	1.0
DER06	N4938.1	0001	...	34	126		M009	M05		
DER06	E00614.1	0001	...	2	181	249		353	....	....
GTQ3P				081	153	.43	321/009	M08	9.7	1.4
LX775	N4933.5	0001	...	35	155		P009	M07		
LX775	E00623.8	0002	...	8	173	288		353	....	....
LANGEN FIR										
-EDGG	N4935.2	0000	...							
	E00622.6	0002	...	1	172					
GTQ3P				114	153	.56	304/019	M11	9.5	1.7
LX898	N4929.1	0001	...	35	155		P016	M03		
LX898	E00626.9	0003	...	4	168	371		348	....	....
GTQ3P				132	153	.58	302/022	M15	9.3	1.8
LX772	N4925.7	0001	...	34	155		P018	M04		
LX772	E00629.3	0004	...	4	164	383		348	....	....
REIMS FIR										
-LFEE	N4927.9	0000	...							
	E00627.6	0004	...	2	162					
GTQ3P				188	163	.65	291/043	M27	8.8	2.3
LX771	N4913.8	0002	...	34	166		P030	M04		
LX771	E00637.4	0006	...	11	151	429		348	....	....
GTQ3P				230	164	.71	293/069	M34	8.5	2.7
T O C	N4901.2	0002	...	31	166	430	P038	M03		
	E00642.2	0008	...	13	138	468	4	348	....	....
GTQ3P				230	155	.61	293/069	M34	8.4	2.7
GROSTENQUIN	N4859.2	0000	...	61	158	366	P037	M03		
GTQ	E00643.0	0008	...	2	136	403	4	348	....	....
111.25										
DCT				230	157	.61	291/061	M33	7.7	3.4
T O D	N4803.3	0009	...	47	159	366	P039	M02		
	E00715.6	0017	...	60	76	405	3	363	....	....
DCT				185	156	.64	289/045	M24	7.7	3.4
BAMEV	N4750.1	0002	...	36	159		P027	M02		
BAMEV	E00723.1	0019	...	14	62	426		363	....	....

```
AWY                              FL   IMT   MN    WIND  OAT  EFOB  PBRN
POSITION    LAT      EET ETO MORA  ITT  TAS    COMP  TDV
IDENT       LONG    TTLT ATO DIS  RDIS   GS     SHR  TRP  AFOB  ABRN
FREQ
----------------------------------------------------------------------
DCT                             143   106  .59 293/031  M15   7.6   3.5
BASEL-MULHO N4738.0 0002 ...  44   109         P021  M01
BLM        E00730.0 0021 ...  13    49  394          363  ....  ....
117.45

LANGEN FIR
-EDGG       N4736.9 0000 ...
           E00734.5 0021 ...   3    46

BLM3G                           110   106  .55 269/019  M10   7.6   3.5
ZH677       N4734.6 0002 ...  49   109         P018  M03
ZH677      E00744.2 0023 ...   7    39  371          357  ....  ....

SWITZERLAND FIR/UIR
-LSAS       N4735.6 0000 ...
           E00740.0 0023 ...   2    37

BLM3G                           068   094  .42 282/002  M02   7.6   3.5
GIPOL       N4730.3 0002 ...  46   097         P002  M03
GIPOL      E00802.4 0025 ...  11    26  277          357  ....  ....

BLM3G                                                     7.3   3.9
ZURICH      N4727.5 0008 ...
LSZH       E00832.9 0033 ...  26                       ....  ....
```

WIND INFORMATION

CLIMB			T O C			GTQ			T O D		
350	289/058	-54	270	291/074	-41	270	291/074	-41	270	290/065	-42
310	290/072	-49	250	292/073	-38	250	292/073	-38	250	291/065	-37
200	291/051	-29	230	293/069	-34	230	293/069	-34	230	291/061	-33
150	298/028	-19	210	291/057	-31	210	291/057	-31	210	291/053	-29
100	304/017	-10	190	291/044	-27	190	291/044	-27	190	290/046	-25

DESCENT

350	295/047	-55
310	293/056	-50
200	290/049	-27
150	289/035	-17
100	264/016	-08

[ATC Flight Plan]

```
-----------------------------------------------------------------------
                          ICAO FLIGHT PLAN
                          ----------------

FF EBBUZQZX EDGGZQZX LFEEZQZX LFFFZQZX LSASZQZX
201550 CYULSBFP
(FPL-FIN1012-IS
-A333/H-SDE3GHIJ2J3J5M1RVWXY/LB2D1
-ELLX1625
-N0366F230 GTQ3P GTQ DCT BAMEV DCT BLM BLM3G
-LSZH0023 LSGG
-PBN/A1B1C1D1O1S2 DOF/260420 REG/N339SB EET/EDGG0002 LFEE0004
 LFFF0008 EDGG0022 LSAS0023 OPR/FIN PER/C RMK/TCAS)
```

[Additional Info]

D I S P A T C H B R I E F I N G I N F O AY1012 ELLX/LSZH

[Runway Analysis]

```
----------------------------------------------------------------------

TAKEOFF AND LANDING REPORT FIN 1012 ELLX-LSZH 20APR26
TLR-1 SEQ-170234121 20APR26 1550Z
A/C N339SB  A330-300 TRENT 772  BEW/CG 127303/.....

/// TAKEOFF DATA ///

APT   PRWY  POAT PWIND  PQNH  PMRTW FLP MT V1 VR V2 PTOW MFPTW LIMIT
ELLX  06    12.0 057M07 1018  2330  1   51 27 27 36 1688 1903  AFM

RMKS FLEX - SEL TEMP 51
     BLEEDS ON

---- ---- ------ ----- ------- --- --- --- --- --- -----------------
RWY  OAT  WIND   QNH   MRTW    FLP V1  VR  V2  PWR CONFIG/CONDITION

---------------------------- ACARS RUNWAYS --------------------------
RWY          ACARS  LENGTH PMTOW NOTES
06                   13130  2330 ILS 109.90
24                   13130  2330 ILS 110.70

-------------------- DRY RWY - PTOW - CALM WIND --------------------
RWY          MTOW MT CONFIG                   FLP  V1  VR  V2  LIMIT
06           2330 51 FLEX - BLEEDS ON           1 127 127 136  AFM
24           2330 51 FLEX - BLEEDS ON           1 127 127 136  AFM

--------------- DRY RWY - PTOW PLUS 4000 - CALM WIND ---------------
RWY          MTOW MT CONFIG                   FLP  V1  VR  V2  LIMIT
06           2330 51 FLEX - BLEEDS ON           1 129 129 136  AFM
24           2330 51 FLEX - BLEEDS ON           1 129 129 136  AFM

-------------------- WET RWY - PTOW - CALM WIND --------------------
RWY          MTOW MT CONFIG                   FLP  V1  VR  V2  LIMIT
06           2330 51 FLEX - BLEEDS ON           1 127 127 136  AFM
24           2330 51 FLEX - BLEEDS ON           1 127 127 136  AFM

--------------- WET RWY - PTOW PLUS 4000 - CALM WIND ---------------
RWY          MTOW MT CONFIG                   FLP  V1  VR  V2  LIMIT
06           2330 51 FLEX - BLEEDS ON           1 129 129 136  AFM
24           2330 51 FLEX - BLEEDS ON           1 129 129 136  AFM

/// LANDING DATA ///

APT   PRWY  POAT PWIND  PQNH  PMRLW FLP  PLDW  LIMIT
LSZH  14    16.0 037M03 1015  1870  FULL 1654  AFM

RMKS NONE

-------- ---- ------ ----- ------- --- ----- --- -------------------
RWY      OAT  WIND   QNH   MRLW    FLP VREF  PWR CONFIG/CONDITION
```

```
--------------------------- ACARS RUNWAYS --------------------------
RWY          ACARS  LENGTH PMRLW NOTES
10                   8202  1870
14                  10335  1870 ILS 111.75
16                  12139  1870 ILS 110.50
28                   8202  1870 ILS 109.75
32                  10827  1870
34                  10597  1870 ILS 110.75

------------- FLAPS FULL - PACKS ON - NO ENROUTE ICING -------------
DRY RWY / WET RWY
            10              14              16              28
  OAT       8202 FT         10335 FT        12139 FT        8202 FT
   11       1870A/1870A     1870A/1870A     1870A/1870A     1870A/1870A
 / 16       1870A/1870A     1870A/1870A     1870A/1870A     1870A/1870A
   21       1870A/1870A     1870A/1870A     1870A/1870A     1870A/1870A
HW/10KT         0/    0         0/    0         0/    0         0/    0
TW/10KT         0/    0         0/    0         0/    0         0/    0

            32              34
  OAT       10827 FT        10597 FT
   11       1870A/1870A     1870A/1870A
 / 16       1870A/1870A     1870A/1870A
   21       1870A/1870A     1870A/1870A
HW/10KT         0/    0         0/    0
TW/10KT         0/    0         0/    0

-------- LANDING DISTANCE - FLAPS FULL - MAX MANUAL BRAKING --------
                    ACTUAL            FACTORED
  LDW     VREF      DRY      WET      DRY      WET
  1620    127      3450     4354     4540     5580
  1640    128      3478     4390     4583     5632
/ 1660    128      3506     4425     4627     5683
  1680    129      3534     4461     4670     5735
  1700    130      3563     4497     4713     5787
HW/KT               -21      -26      -24      -31
TW/KT                63       80       93      112

END TAKEOFF AND LANDING REPORT FIN 1012 ELLX-LSZH 20APR26
```

[Airport WX List]

```
-----------------------------------------------------------------
ELLX --> LSZH    AY  1012 / 20APR2026
LIDO/WEATHER SERVICE       DATE : 20Apr2026   TIME : 15:50 UTC

AIRMETs:
  No Wx data available

SIGMETs:
  No Wx data available

Tropical Cyclone SIGMETs:
  No Wx data available

Volcanic Ash SIGMETs:
  No Wx data available

Departure:
ELLX/LUX  LUXEMBOURG
  SA  201520  06007KT 030V120 CAVOK 12/M02 Q1018 NOSIG
  FT  201100  2012/2118 04010KT 9999 SCT040

Destination:
LSZH/ZRH  ZURICH
  SA  201520  VRB03KT 9999 FEW068 16/M00 Q1015 NOSIG
  FT  201425  2015/2121 04005KT 9999 FEW060 TX16/2015Z TN03/2105Z
              TX15/2114Z
              TEMPO 2015/2018 35005KT
              PROB40 2018/2021 05010KT
              BECMG 2021/2024 34003KT
              TEMPO 2100/2109 CAVOK
              BECMG 2106/2109 05010KT
              PROB30 TEMPO 2110/2116 05015G25KT

Destination Alternates:
LSGG/GVA  GENEVA
  SA  201520  AUTO 05006KT CAVOK 17/05 Q1013 NOSIG
  FT  201425  2015/2121 04004KT CAVOK TX19/2015Z TN05/2105Z
              TX17/2115Z
              BECMG 2107/2109 04014KT


  AIRPORTLIST ENDED
```

[NOTAM]

LIDO-NOTAM-BULLETIN INCLUDES NOTAM, COMP NOTAM AND AIP-REGULATION
VALID: 2604201625 - 2604202110 STD(EOBT)+TRIP+ALTN+3HRS
FIN 1012 /20APR OFP-NR: 1
ROUTE: ELLX - LSZH ALTN: LSGG
N0366F230 GTQ3P GTQ DCT BAMEV DCT BLM BLM3G

==========
DEPARTURE AIRPORT - DETAILED INFO
==========

ELLX/LUX LUXEMBOURG

++++++++++++++++++++++++++++ AIRPORT ++++++++++++++++++++++++++++++

A1201/26
RWY 06/24 CL MARKINGS PARTIALLY OBSCURED BTN THR **RWY 24** AND INT **TWY C** DUE TO RUBBER DEPOSIT
A1188/26
TWY D2 RUNWAY-HOLDING POSITION MARKING PARTIALLY MISSING. DASHED LINES VACATING SIDE MISSING.
D0166/26
TRIGGER NOTAM. PERM AIRAC AMDT 004/2026 16 APR 2026. MSA LUX **DVOR/DME** UPDATED.
A1133/26
DUE TO **FUEL** SUPPLY CONSTRAINTS AT ELLX, ACFT SHALL TAKE MINIMUM UPLIFT. INBOUND TANKERING IS ADVISED IF OPERATIONALLY POSSIBLE
A1123/26
4 FIXED CRANES ERECTED AT 1.2NM NE FROM CROIX DE GASPERICH PSN 493528N 0060843E RADIUS 0.2NM AT 5NM BRG 230DEG FM ELLX ARP. MAX ALT 1230FT AMSL, MAX HGT 230FT AGL. NO MARKINGS, LIGHTING FIXED RED AT NIGHT.
A1098/26
MON-FRI 2000-0400
APN P7 TXL K1 **CLOSED** DUE TO **WIP**
A1090/26
RWY 06/24 CL MARKINGS PARTIALLY OBSCURED BTN THR RWY06 AND INT **TWY** G DUE RUBBER DEPOSIT.

++++++++++++++++++++++++++++++ SID ++++++++++++++++++++++++++++++

D0168/26
TRIGGER NOTAM. PERM AIRAC AMDT 004/2026 16 APR 2026. MSA DIK **DVOR/DME** UPDATED.
D0057/26
MSA DIK **DVOR/DME** TO READ AS FOLLOWS:
4000FT FOR SECTOR 133DEG - 218DEG
3600FT FOR SECTOR 218DEG - 133DEG
REF ELLX **AD** 2.24 **AD** 2.ELLX-STAR.01, **AD** 2.ELLX-SID.01 AND **AD** 2.ELLX-SID.02. AIP WILL BE AMENDED ACCORDINGLY.
D0056/26
MSA LUX **DVOR/DME** TO READ AS FOLLOWS:
3600FT FOR SECTOR 249DEG - 291DEG FROM 0NM - 15NM,
3600FT FOR SECTOR 291DEG - 149DEG.
REF ELLX **AD** 2.24 **AD** 2.ELLX-SID.01, **AD** 2.ELLX-SID.02, **AD** 2.ELLX-IAC.01B, **AD** 2.ELLX-IAC.02B, **AD** 2.ELLX-IAC.03 AND **AD** 2.ELLX-IAC.04.
AIP WILL BE AMENDED ACCORDINGLY.

++++++++++++++++++++++ APPROACH PROCEDURES ++++++++++++++++++++++++

A0567/26
RWY 24 LOC ILW 110.700MHZ POSS SGL DEGRADATION BTN 022DEG AND 029DEG AT 17NM, 1500FT AGL. OPERATES NORMALLY IN ALL OTHER DIRECTIONS.

==========
DESTINATION AIRPORT - DETAILED INFO
==========

LSZH/ZRH ZURICH

++++++++++++++++++++++++++++ AIRPORT +++++++++++++++++++++++++++++

A0275/26
INT **TWY E7** AND **TWY E** CL LGT MIS.
A0260/26
ACFT STANDS B33 AND B37 **CLSD** DUE TO **WIP**.
A0287/26
TWY E4 CLSD DUE TO **WIP**. AREA MARKED AND LGTD.
A0289/26
TWY E CLSD BTN **TWY F** AND LINK 6 DUE TO **WIP**. AREA MARKED AND LGTD.
A0288/26
TWY LINK 7 **CLSD** DUE TO **WIP**. AREA MARKED AND LGTD.
A0282/26
TWY INNER BTN **TWY J** AND **TWY A** NO CL LGT PROVIDED. TAX WITH CTN.
REF AIP SUP 001/2026 PHASE I.
A0280/26
ACFT STAND H11, H12, H13 AND H14 **CLSD** DUE TO **WIP**.
REF AIP SUP 001/2026 PHASE I.
A0281/26
TWY INNER BTN **TWY J** AND **TWY A** NO SINGLE ENG OPS **AVBL** FOR MULTIENGINE ACFT.
REF AIP SUP 001/2026 PHASE I.
A0279/26
TWY INNER BTN **TWY J** AND **TWY A** RESTRICTED TO CODE C ACFT.
USE MNM POWER ONLY.
REF AIP SUP 001/2026 PHASE I.
A0278/26
TWY K BTN **TWY A** AND **TWY** INNER **CLSD** DUE TO **WIP**.
REF AIP SUP 001/2026 PHASE I.
A0269/26
TWY E BTN **TWY E9** AND ABM PRKG PSN D15 NO CL LGT PROVIDED.
TAX ON TEMPO MARKED **TWY CL**.
FOR ACFT CODE E SPECIAL RQMNTS WITH FLW ME FOR TAX.
A0258/26
TWY A EAST OF **TWY K** CL LGT PARTIALLY MIS.
A0256/26
CRANE MARKED, LGTD, 472653N0083155E, 37.6M / 123.4FT AGL, 475.3M / 1559.4FT AMSL.
A0215/26
TWY P CL LGT MIS.
A0216/26
DIP F BTN **TWY E** AND LINK 6 CL LGT AND APRON STOP BARS MIS.
A0213/26
SUN-THU 2100-0400
TWY F1 CLSD DUE TO **WIP** AFT LAST SKED FLT.

A0212/26
SUN-THU 1900-0400
TWY F2 AND F3 **CLSD** DUE TO **WIP** IN CASE OF REMOTE DE-ICING PAD F IS NOT USED FOR ACFT DE-ICING. AREA MARKED AND LGTD.
A0214/26
SUN-THU 1900-0400
TWY P CLSD DUE TO **WIP**.
A0198/26
ACFT STAND T50 **CLSD** DUE TO **WIP**.
A0121/26
CRANE MARKED, LGTD, 472652N0083423E, 29.3M / 96.1FT AGL, 484.2M / 1588.5FT AMSL.
A0105/26
TWY E BTN **TWY E7** AND **TWY** LINK-2 **CLSD** DUE TO **WIP**.
REF AIP SUP 002/2025 PHASE III.
A0104/26
TWY E SOUTH OF **TWY E7** RESTRICTED TO CODE E ONLY.
MAX WING SPAN 65M. REF AIP SUP 002/2025 PHASE III.
A0106/26
TWY N BTN **TWY E7** AND **TWY F CLSD** DUE TO **WIP**.
REF AIP SUP 002/2025 PHASE III.
A0103/26
TWY LINK-3 **CLSD**. TAX ON TEMPO MARKED CL LINK-3.
NO CL LGT PROVIDED. TAX WITH CTN. REF AIP SUP 002/2025 PHASE III.
A0075/26
TWY N EAST OF ACFT STAND B35 RESTRICTED TO CODE C ACFT.
REF AIP SUP 006/25, PHASE I.
A0074/26
ACFT STAND A44 AND B31 RESTRICTED TO CODE C ACFT.
REF AIP SUP 006/25, PHASE I.

++++++++++++++++++++++++++++++ RUNWAY ++++++++++++++++++++++++++++++

A0206/26
SUN-THU 2100-2359, MON-FRI 0000-0400
RWY 16/34 CLSD AFT LAST SKED FLT. ACTUAL CLOSURE BCST ON ATIS.
A0207/26
SUN-THU 2100-2359, MON-FRI 0000-0400
RWY 10/28 CLSD AFT LAST SKED FLT. ACTUAL CLOSURE BCST ON ATIS.

++++++++++++++++++++++++++++++ SID ++++++++++++++++++++++++++++++

A0041/26
SID **RWY 16** - RNAV 5:
VEBIT 4S PDG CHANGED TO 5.3 PCT TO 2100FT.
REF AIP LSZH 2.22, 1.1.2.

++++++++++++++++++++++ APPROACH PROCEDURES ++++++++++++++++++++++

A0267/26
2130-0300
RWY 28 ILS IZW 109.750 **U/S** DUE TO RPLC.
A0169/26
TRIGGER NOTAM - PERM AIRAC AMDT 004/2026:
RNAV 1 TRANSITION TO FINAL APCH **RWY 28** AND IAC RNP **RWY 28** REVISED.
A0165/26
REF AIP SUP 003/26:
RWY 28 ILS GP 333.050 **U/S** DUE TO RPLC.
IAC **ILS RWY 28** (LSZH **AD** 2.24.10.3-3) CANCELLED.

==========
DESTINATION ALTERNATE AIRPORT(S)
==========

LSGG/GVA GENEVA

++++++++++++++++++++++++++++ AIRPORT ++++++++++++++++++++++++++++++

A0290/26
2159-0330
TWY OUTER **CLSD** BTN PRKG PSN 43 AND LINK 3 AFT LAST SKED FLT
DUE TO **WIP**.
A0291/26
CRANE MARKED, LGTD, 461345N0060608E,
23.7M / 77.8FT AGL, 447.3M / 1467.5FT AMSL.
A0226/26
POLE MARKED, 461351N0060546E, 2.0M / 6.6FT AGL, 431.1M / 1414.4FT
AMSL.
A0158/26
IAC RNP **RWY 22**: OCA(H) LNAV/VNAV MINIMA WITH MISSED APCH
CLIMB GRADIENT 3.8 PCT TO 4800 REVISED:
CAT A 1748FT
CAT B 1755FT
CAT C 1762FT
CAT D 1769FT
DUE TO CRANE LCA 0.93NM FM THR **RWY 22** ON R170, ELEV 1656FT AMSL.
REF AIP LSGG **AD** 2.24.10-7.
A0084/26
AP COLLABORATIVE DECISION MAKING (ACDM) PERM CONNECTED WITH
NETWORK MANAGEMENT OPS CENTRE.
DEP PLANNING INFO MSG WITH FLT DATA SENT TO OPR NETWORK MANAGEMENT
SYSTEM. FLT CREW REQUIRED TO CTC ATC FOR DEP CLR WI VALID TARGET
OFF-BLOCK TIME (TOBT) -15/+5 MIN.
WHEN FLT IS READY OUTSIDE TOBT WINDOW, FLT CREW SHALL CTC GND
HANDLER BEFORE.
PUSH AND/OR START-UP ALLOCATED BASED ON TARGET START APPROVAL TIME
(TSAT) +/-5 MIN.

==========
EXTENDED AREA AROUND DEPARTURE
==========

EBBU BRUSSELS FIR

++++++++++++++++++++++++++++ FIR/UIR ++++++++++++++++++++++++++++++

F1073/26
MOERVAART WINDTURBINE 510811N 0034755E 232M AGL OBST LGT **U/S**
D0194/26
STEENOKKERZEEL ATCC OPR HR: MON-TUE 0930-2200
E0045/26
RADIO ALTIMETER INTERFERENCE POSS DUE TO EMSA UAS FLT. REF SUP
011/2026 AND SUP 020/2026. CHECK ACT WITH OOSTENDE APP AND
BRUSSELS FIC.

++++++++++++++++++++++ RESTRICTED AIRSPACE ++++++++++++++++++++++++

F1065/26 VALID: 20-APR-26 2000 - 20-APR-26 2145
TSA22-BERTRIX-JEHONVILLE ACT
F) GND G) 4500FT AMSL
G0879/26 VALID: 20-APR-26 2000 - 20-APR-26 2145
TRA S2 - BEAURAING AREA ACT
F) 4500FT AMSL G) FL155
G0880/26 VALID: 20-APR-26 2000 - 20-APR-26 2145
TRA S5 - NEUFCHATEAU ACT
F) 4500FT AMSL G) FL155
G0873/26 VALID: 20-APR-26 1800 - 20-APR-26 2045
1800-1900 1930-2045
EBR05A - HELCHTEREN ACT
F) GND G) FL100
G0874/26 VALID: 20-APR-26 1800 - 20-APR-26 2045
1800-1900 1930-2045
EBR05C - HELCHTEREN DOWNWIND ACT
F) 2850FT AMSL G) FL050
F1059/26 VALID: 20-APR-26 1800 - 20-APR-26 2045
1800-1900 1930-2045
EBR05B - HELCHTEREN RUN-IN ACT
F) 2050FT AMSL G) 3300FT AMSL
G0907/26
1400-1515 1930-2045 2100-2200
TSA26A - ARDENNES 01 AND TSA26B - ARDENNES 04 ACT
GAT ALLOWED TO CROSS TRACK MATIX-MMD ON FIXED LVL BLW FL195 AFTER COOR BTN BELGA RADAR AND CRNA/NORD
F) 4500FT AMSL G) UNL
F1058/26 VALID: 20-APR-26 1400 - 20-APR-26 1645
1400-1515 1530-1645
EBD26-ARDENNES 05 ACT
F) 1000FT AGL G) 4500FT AMSL
G0886/26
1400-1515 1530-1645 1930-2045 2100-2200
TSA26A - ARDENNES 01 AND TSA26B - ARDENNES 04 ACT
GAT ALLOWED TO CROSS TRACK MATIX-MMD ON FIXED LVL BLW FL195 AFTER COOR BTN BELGA RADAR AND CRNA/NORD
F) 4500FT AMSL G) UNL
G0908/26
DAILY 0630-1200 1300-1700
TSA OVER NORTH SEA 'AREA 1 LOW', 'AREA 1 HIGH', 'AREA 2 LOW', 'AREA 3 LOW', 'AREA 4 LOW', 'AREA 5 LOW', 'AREA 6 LOW', 'AREA 6 HIGH', 'AREA 7 LOW' AND 'AREA 8 LOW' FOR UAS ACT BEYOND VISUAL LINE OF SIGHT. REF SUP 011/2026 AND SUP 020/2026.
F) SFC G) 4500FT AMSL
F1064/26
1025-1330 1830-2200
HTA13-WESTERLO HELICOPTER TRAINING AREA ACT
F) GND G) 500FT AGL
G0892/26 VALID: 20-APR-26 0900 - 20-APR-26 1840
EBBUGLD13-GLIDER AREA MALMEDY ACT
F) 4500FT AMSL G) FL065
G0890/26 VALID: 20-APR-26 0900 - 20-APR-26 1840
EBBUGLD11-GLIDER AREA SAINT-HUBERT ACT
F) 4500FT AMSL G) FL065
G0891/26 VALID: 20-APR-26 0900 - 20-APR-26 1840
EBBUGLD12-GLIDER AREA LA ROCHE ACT
F) 4500FT AMSL G) FL065

F1061/26
0730-1100 1230-1530 1900-2200
HTA10A- COASTAL HELICOPTER TRAINING AREA ACT
F) GND G) 500FT AGL

G0893/26
DAILY 0700-1200 1300-1600
TSA OVER NORTH SEA 'AREA 1 LOW', 'AREA 1 HIGH', 'AREA 2 LOW', 'AREA 3 LOW', 'AREA 4 LOW', 'AREA 5 LOW', 'AREA 6 LOW', 'AREA 6 HIGH', 'AREA 7 LOW' AND 'AREA 8 LOW' FOR UAS ACT BEYOND VISUAL LINE OF SIGHT. REF SUP 011/2026 AND SUP 020/2026.
F) SFC G) 4500FT AMSL

G0876/26
EBR20-BRASSCHAAT ACT
F) GND G) FL070

G0877/26
0630-1530 1900-2200
LFA11-KOKSIJDE TRAINING AREA ACT
F) 10FT AMSL G) 500FT AMSL

G0872/26
EBR04-ELSENBORN 01 ACT
F) GND G) FL105

F0976/26
DAILY 0800-1700
BOUGNIES MODEL ACFT EVENT 502335N 0035623E RADIUS 400M
F) GND G) 600FT AGL

F0943/26
TRIGGER NOTAM. PERM AIRAC AMDT 004/2026 16 APR 2026. REMARKS TO LATERAL LIMITS OF LFA01, LFA02, LFA04, LFA05, LFA06 AND LFA07 UPDATED.
F) 250FT AGL G) 500FT AGL

F0945/26
TRIGGER NOTAM. PERM AIRAC AMDT 004/2026 16 APR 2026. REMARKS TO LATERAL LIMITS OF HTA01, HTA02, HTA04A, HTA04B, HTA05A, HTA05B, HTA06 AND HTA07 UPDATED.
F) GND G) 250FT AGL

G0842/26
REF AIP ENR 2.2 EBR24A - KOKSIJDE OBSOLETE. FOR LATEST INFO CONSULT AIP FRANCE. AIP WILL BE AMENDED ACCORDINGLY.
F) 1500FT AMSL G) FL105

G0856/26
FLIGHT RESTRICTIONS OVER NORTH SEA (BELGIUM FIR) FOR UAS ACT BEYOND VISUAL LINE OF SIGHT. REF SUP 011/2026 AND SUP 020/2026.
REF AIP SUP 011/2026 : AREA 4 HIGH COORDINATES TO READ AS FOLLOWS: 512719N 0023000E 512521N 0025114E 512114N 0024957E - AN ARC OF CIRCLE, 12.8 NM RADIUS, CENTRED ON 510839N 0024601E AND TRACED COUNTERCLOCKWISE TO 511637N - 0023000E 512719N 0023000E.
REF AIP SUP 020/2026 : CORRIDOR C COORDINATES TO READ AS FOLLOWS: 511139N 0023503E 511351N 0022721E -AN ARC OF CIRCLE, 12.8NM RADIUS, CENTRED ON 510839N 0024601E AND TRACED CLOCKWISE TO 512114N 0024957E - 511602N 0024819E - AN ARC OF CIRCLE, 7.5 NM RADIUS, CENTRED ON 510839N 0024601E AND TRACED COUNTERCLOCKWISE TO 511139N 0023503E. AREA 4 LOW COORDINATES TO READ AS FOLLOWS: 512719N 0023000E 512521N 0025114E 512114N 0024957E - AN ARC OF CIRCLE, 12.8 NM RADIUS, CENTRED ON 510839N 0024601E AND TRACED COUNTERCLOCKWISE TO 511637N - 0023000E 512719N 0023000E. AIP SUP WILL BE AMENDED ACCORDINGLY. F) SFC G) 4500FT AMSL

F1003/26
EVERY MON-FRI H24
EBR67 NIVELLES ACT
F) GND G) 400FT AGL

==========
EXTENDED AREA AROUND DESTINATION
==========

LSAS SWITZERLAND FIR/UIR

++++++++++++++++++++++++++++ FIR/UIR ++++++++++++++++++++++++++++++

B0777/26
CABLE CAR GRIMENTZ-SOREBOIS WITHOUT ORANGE MARKINGS
461035N0073426E - 460902N0073543E,
MAX 206M / 676FT AGL, 2701M / 8863FT AMSL.
(OBST NR 273VS30133).
A0272/26
DRG AERO 2026 EXP DLA FOR CHANGE OF FLT RULES 25NM RADIUS AROUND EDNY DUE TO POSS HIGH TFC VOLUME AND FREQ CONGESTION.
A0234/26
UNAUTHORIZED RADIO TRANSMISSIONS RECEIVED ON SEVERAL FREQ IN THE SOUTHEAST SWITZERLAND REGION AND BORDER AREA WITH ITALY.
TRANSMISSIONS ARE NOT FROM AN ATS UNIT.
PILOTS SHALL DISREGARD ANY NON-STANDARD CALLS AND IF IN DOUBT, VERIFY THE CALL AND REPORT TIME, LOCATION AND FL OF THE OCCURRENCE TO ATC UNIT IN CTC.
A0228/26
IFR FLT SHALL USE SSR CODE 7600 IN CASE OF RCF EVEN WHEN CONTINUING IN VMC TO THE NEAREST SUITABLE **AD**. SSR CODE 7601 AS DEFINED BY SERA 14083 NOT YET IMPLEMENTED.
B0552/26
STS INFO OF AIRSPACE ACTIVATION OF ZURICH TMA SECT S1/S2/S3 (HX), DUBENDORF CTR AND DUBENDORF TMA SECT 1/2 (HX) IS BROADCASTED ON ZURICH TERMINAL 127.755.
B0458/26
POLE OBST RED LGT **U/S**, 7.5KM SE OF EMBRACH, PSN 472838N0084111E,
MAX 54.0M / 177 FT AGL, 664.0M / 2178.5 FT AMSL
(OBST NR 216ZH00014).
A0109/26
UKRAINIAN CRISIS
1. ALL AIRCRAFT OWNED, CHARTERED, OPERATED OR OTHERWISE CONTROLLED BY CITIZENS OF THE RUSSIAN FEDERATION AND ALL OPERATORS HOLDING AIR OPERATOR CERTIFICATE (AOC) ISSUED BY THE RUSSIAN FEDERATION AUTHORITIES ARE PROHIBITED TO ENTER, EXIT OR OVERFLY THE SWISS AIRSPACE EXC HUMANITARIAN FLT, SEARCH AND RESCUE FLT AND LEASED ACFT ONE-WAY RTN FLT WITH THE PERMISSION OF THE APPROPRIATE SWISS AUTHORITIES AND IN CASE OF EMERGENCY LDG OR EMERGENCY OVERFLIGHT.
FLIGHTS WITH A VALID DIPLOMATIC CLEARANCE NOT AFFECTED.
2. AIRCRAFT OPERATORS OF NON-SCHEDULED FLT BETWEEN RUSSIA AND SWITZERLAND, OPERATED DIRECTLY OR VIA A THIRD COUNTRY, MUST NOTIFY ALL RELEVANT INFORMATION CONCERNING THE FLT PRIOR TO THEIR OPERATION AND AT LEAST 48 HR IN ADVANCE TO THE FEDERAL OFFICE OF CIVIL AVIATION. CONTACT FOR NOTIFICATION AND DOCUMENTS WWW.BAZL.ADMIN.CH/AVIATIONSANCTIONS.

A0108/26
SWISS AIR CARRIERS AND COMMANDERS OF AIRCRAFT IN CHARGE OF AIR SERVICE MANAGED BY CARRIERS HOLDERS OF OPERATING LICENCE ISSUED BY SWITZERLAND, WHETHER THEY ARE CONTRACTUAL CARRIERS AND/OR DE FACTO CARRIERS, OR PERFORMING AIR SERVICE WITH COMMERCIAL CHARTER AGREEMENT OR WITH CODE SHARING AND TO ALL FLIGHT PERFORMED WITH SWISS AIRCRAFT REGISTRATION, ARE REQUESTED TO CONSULT EASA SIB-2021-10 AND ARE REQUESTED TO AVOID MINSK FIR (UMMV).
FOREIGN AIR CARRIERS INBOUND SWITZERLAND ARE RECOMMENDED TO AVOID MINSK FIR (UMMV).

A0107/26
UKRAINIAN CRISIS
ALL ACFT AND ALL OPERATORS HOLDING AIR OPERATOR CERTIFICATE (AOC) ISSUED BY BELARUSIAN AUTHORITIES PROHIBITED TO USE SWISS AIRPORTS EXC WITH PERMISSION OF APPROPRIATE AUTHORITIES OF SWITZERLAND AND IN CASE OF EMERG LDG. FLT WITH A VALID DIPLOMATIC CLR NOT AFFECTED.

++++++++++++++++++++++ RESTRICTED AIRSPACE ++++++++++++++++++++++

W1095/26
APR 20 0800-1200, 21-22 29-30 MAY 05-06 0700-2000, APR 23 MAY 07, 0700-1600, APR 24 0700-1000, 28 1100-1600, MAY 01 0700-1100
R-AREA LSR12 SIMPLON ACT DUE TO FRNG.
F) GND G) 22500FT AMSL

W1107/26
20 0700-1900, 21 0630-1830, 22 24 0530-1900, 23 27-28 0530-2100,, 29 0530-1400
R-AREA LSR14 SANTIS ACT DUE TO FRNG.
F) GND G) 12500FT AMSL

W1099/26
17 1100-1530, 20 0700-1900, 21 23 27-28 0530-2100, 22 24, 0530-1900, 29 0530-1400
R-AREA LSR14 SANTIS ACT DUE TO FRNG.
F) GND G) 12500FT AMSL

W1091/26
17 24 0530-1400, 21-23 0530-2100
R-AREA LSR7 HONGRIN ACT DUE TO FRNG.
F) GND G) 15500FT AMSL

W1093/26
17-18 20-24 0530-1600
TEMPO D-AREA PATROUILLE DES GLACIERS ESTABLISHED WI AERA: 460546N0071343E 461050N0072417E 460810N0073733E 460116N0074457E 455851N0073938E 455845N0072113E 460546N0071343E (460332N0072921E RADIUS 11.2NM), WI SWISS AIRSPACE ONLY.
EXP INTENSE HEL FLT ACT. NO COORDINATION FREQ OR TEL NUMBER **AVBL**.
F) GND G) FL130

W0560/26
16 23 0800-2000, 21 1100-1500, 22 0630-1500, 24 0900-1500
R-AREA LSR18 BURE ACT DUE TO MIL UAV ACT.
F) GND G) 4500FT AMSL

W1057/26
APR 15 MAY 01 0600-1000, APR 22-23 29-30 0600-1000 1100-2000
R-AREA LSR57 ROSSBODEN-RHEINSAND ACT DUE TO FRNG.
F) GND G) 6500FT AMSL

W0314/26
APR 13-16 20-23 27-30 MAY 04-07 11-13 0600-1000 1100-2100
D-AREA LSD12 SIHLTAL ACT.
F) GND G) 9850FT AMSL

++++++++++++++++++++++++++++++ ROUTE ++++++++++++++++++++++++++++++

A0161/26
ATS RTE N871:
KONOL-BERSU MEA SHALL READ 6000FT.
REF AIP ENR 3.2-12
A0163/26
ATS RTE Z59:
KONOL-BALIR MEA SHALL READ 7000FT.
REF AIP ENR 3.2-61
A0162/26
ATS RTE Z119:
FRIBU-TELNO MEA SHALL READ 8000FT.
REF AIP ENR 3.2-72
A0211/26
ATS RTE T627: MAX IAS 250 KT FROM LUTIX.
REF AIP SWITZERLAND ENR 3.2.

==========
EXTENDED AREA AROUND DESTINATION ALTERNATE AIRPORT(S)
==========

LSAS SWITZERLAND FIR/UIR

Please see section EXTENDED AREA AROUND DESTINATION

==========
AREA ENROUTE DEPARTURE - DESTINATION
==========

EDGG LANGEN FIR

++++++++++++++++++++++++++++++ FIR/UIR ++++++++++++++++++++++++++++++

B0192/26
SECURITY - HAZARDOUS SITUATION IN ETHIOPIA
CIVIL GERMAN AIR OPERATORS ARE ADVISED TO TAKE POTENTIAL RISK INTO ACCOUNT IN THEIR RISK ASSESSMENT AND ROUTING DECISIONS WITHIN FIR ADDIS ABABA (HAAA).
POTENTIAL RISK FROM MILITARY CONFLICTS WITH DRONES, FIGHTER JETS, ARTILLERY AND ANTI-AVIATION WEAPONRY.
THIS NOTAM OVERRULES THE RECOMMENDATION PROVIDED IN THE CURRENTLY APPLICABLE AIC.
B0190/26
SECURITY - HAZARDOUS SITUATION IN LEBANON
CIVIL GERMAN AIR OPERATORS ARE RECOMMENDED NOT TO ENTER FIR BEIRUT. POTENTIAL RISK FROM ANTI-AVIATION WEAPONRY, MILITARY OPERATIONS AND ARMED CONFLICTS.
B0189/26
SECURITY - HAZARDOUS SITUATION IN IRAN
CIVIL GERMAN AIR OPERATORS ARE RECOMMENDED NOT TO ENTER FIR TEHRAN (OIIX). POTENTIAL RISK TO AVIATION FROM ESCALATING CONFLICT AND ANTI-AVIATION WEAPONRY.
THIS NOTAM OVERRULES THE RECOMMENDATION PROVIDED IN THE CURRENTLY APPLICABLE AIC.

B0146/26
PUBLICATION OF CTA/UTA IN DELEGATED AIRSPACE OVER AUSTRIAN TERRITORY:
IN GERMAN AIP CTA/UTA DATA ARE PUBLISHED IN ENR 2.1. EVEN THOUGH CTA/UTA ARE DESCRIBED CONSISTING OF THE FLW SECTORS, MUENCHEN CTA AND KARLSRUHE UTA END AT THE GERMAN-AUSTRIAN BORDER AND ARE NOT VALID OVERHEAD WIEN FIR (LOVV).
PUBLISHED BOUNDARIES OF ATC SECTORS EDUUALP 14-44, EDUUAMM 14-44, EDMMZUG, EDMMTEG, EDMMTRU AND EDMMSTA ARE NOT AFFECTED.
(AIP GERMANY PAGES ENR 2.1-89FF REFER).

B0094/26
MILITARY INVASION OF UKRAINE BY RUSSIAN FEDERATION.
REROUTINGS, EXTENDED ROUTE PORTIONS BELOW FL245 AND DELAY MAY BE EXPECTED WITHIN LOWER AND UPPER GERMAN AIRSPACE DUE TO AIRSPACE RESTRICTIONS FOR THE EXECUTION OF MILITARY MISSIONS.
IT IS RECOMMENDED TO CONSIDER THE USE OF EXTRA-FUEL.

B0089/26
FOR FLIGHTS OVER OR NEAR CONFLICT ZONES OUTSIDE GERMANY REFER TO THE GERMAN AERONAUTICAL INFORMATION CIRCULAR (AIC).

B0072/26
KARLSRUHE UAC USES THE EUROCONTROL LOGON LIST TO STABILIZE CPDLC PERFORMANCE. ALL LOGON LISTED ACFT SHALL LOG ON TO KARLSRUHE UAC. DATA LINK ADDRESS OF KARLSRUHE UAC IS EDUU. NOT LOGON LISTED ACFT SHALL NOT TRY TO LOGON TO EDUU. LOGON FORWARDING FOR NOT LOGON LISTED ACFT WILL NOT BE PERFORMED. ALL OPERATORS ARE INVITED TO APPLY FOR LOGON LIST ENTRY VIA THE PUBLISHED EUROCONTROL PROCESS
(AIP GERMANY PAGES GEN 3.4-65 THRU GEN 3.4-70 REFER).

B0065/26
SECURITY - HAZARDOUS SITUATION IN SYRIA
CIVIL GERMAN AIR OPERATORS ARE PROHIBITED TO ENTER FIR DAMASCUS (OSTT) BELOW FL260. POTENTIAL RISK FROM ANTI-AVIATION WEAPONRY, MILITARY OPERATIONS AND ARMED CONFLICTS.
FURTHER INFORMATION: WEBSITE OF THE FEDERAL MINISTRY FOR DIGITAL AND TRANSPORT OF GERMANY (WWW.BMV.DE/KRISENMANAGEMENT).
CIVIL GERMAN AIR OPERATORS ARE ADVISED TO TAKE POTENTIAL RISK INTO ACCOUNT IN THEIR RISK ASSESSMENT AND ROUTING DECISIONS WITHIN FIR DAMASCUS (OSTT) AT AND ABOVE FL260. POTENTIAL RISK TO AVIATION FROM MILITARY OPERATIONS.
THIS NOTAM OVERRULES THE RECOMMENDATION PROVIDED IN THE CURRENTLY APPLICABLE AIC.

++++++++++++++++++++++++++++ WAYPOINT ++++++++++++++++++++++++++++

B0237/26
WIPPER **VOR** WYP 109.6MHZ **OUT OF SERVICE**.

C1537/22
HAMM **DVOR/DME** HMM 115.65 / CH103Y RANGE OF **DVOR** R199 LIMITED TO 39NM.

++++++++++++++++++++++ RESTRICTED AIRSPACE ++++++++++++++++++++++

B0123/26
DAILY SS PLUS30 - 2200
LASER ACTIVITIES/SKYBEAMER RADIUS 0.5NM CENTERED ON 521511N 0075914E OSNABRUECK (8.9NM NE MUENSTER/OSNABRUECK **NDB** MYN)
F) GND G) UNL

LFEE REIMS FIR

++++++++++++++++++++++++++++ FIR/UIR ++++++++++++++++++++++++++++++

P1501/26
WINDTURBINE E2107-1 LIGHTING **U/S** - RDL277/10.3NM ARP LFGF :
- PSN : 470123.18N 0043859.37E
- HGT : 427FT
- ELEV : 2225FT.

F0744/26 VALID: 20-APR-26 0700 - 20-APR-26 1900
AUTO METAR AND TAF NOT PROVIDED.

P1490/26
WINTURBINES E2101-22 LGT **U/S** RDL289/9.9NM LFGI:
PSN: 472624.09N 0044305.66E
HGT 410FT
ELEV 2123FT

P1471/26
WINDTURBINES E5722-4 LGT **U/S** : (DAY NGT) :
RDL215/15.5NM LFQU - PSN : 485234.44N 0064215.09E
ELEV :1588FT
HGT : 493FT

F0491/26
TRIGGER NOTAM - PERM AIRAC AIP AMDT 04/26 WEF 16 APR 2026.
MODIFICATION CTR ETAIN

F0492/26
TRIGGER NOTAM - PERM AIRAC AIP AMDT 04/26 WEF 16 APR 2026.
MODIFICATION TMA NANCY

F0495/26
TRIGGER NOTAM - PERM AIRAC AIP AMDT 04/26 WEF 16 APR 2026. SETTING UP OF DAY VFR TRANSIT ITINERARIES OVER 'PARC NATIONAL DE FORET'.

P1402/26
WINDTURBINE E5210-9 LIGHTS **U/S** - RDL014/8NM LFSU ARP :
-PSN : 480538.90N 0052037.60E
-HEIGHT : 480FT
-ELEV : 1828FT.

P1381/26
WINDTURBINE NR E5524-1 LGT **U/S** - RDL145/12.8NM LFEU ARP LFEU:
- PSN: 484134.00N 0052226.00E
- HGT: 492FT
- ELEV: 1676FT

F0670/26
FRENCH AIR CARRIERS AND CAPTAINS OF AIRCRAFT IN CHARGE OF AIR SERVICES OPERATED BY CARRIERS HOLDING AN OPERATING LICENSE ISSUED BY FRANCE, WHETHER THEY ARE CONTRACTUAL CARRIERS AND/OR OPERATING CARRIERS, OR PERFORMING AIR SERVICES THROUGH A WET LEASE OR A CODESHARE AGREEMENT AS WELL AS FOR ANY FLIGHT MADE WITH AN AIRCRAFT REGISTERED IN FRANCE ARE REQUESTED NOT TO PENETRATE INTO THE AIRSPACE OF OMAN (FIR MUSCAT (OOMM)), EXCEPT :
- MAINTAINING ALL TIMES A FLIGHT LEVEL ABOVE OR EQUAL TO FL320, FOR ROUTES LOCATED SOUTH OF THE SEGMENTS DEFINED BY THE FOLLOWING REPORTING POINTS, RESPECTING THE SEQUENCE BELOW :
DANOM 225454N450509E
KEDON 202516N555850E
VELOD 234617N573430E
THE AIR OPERATOR MUST CARRY OUT A ROBUST RISK ASSESSMENT TO ENSURE THAT THE FLIGHT CAN BE CONDUCTED UNDER SATISFACTORY SAFETY AND SECURITY CONDITIONS BEFORE ENTERING THIS AREA.

F0669/26

FRENCH AIR CARRIERS AND CAPTAINS OF AIRCRAFT IN CHARGE OF AIR SERVICES OPERATED BY CARRIERS HOLDING AN OPERATING LICENSE ISSUED BY FRANCE, WHETHER THEY ARE CONTRACTUAL CARRIERS AND/OR OPERATING CARRIERS, OR PERFORMING AIR SERVICES THROUGH A WET LEASE OR A CODESHARE AGREEMENT AS WELL AS FOR ANY FLIGHT MADE WITH AN AIRCRAFT REGISTERED IN FRANCE ARE REQUESTED NOT TO PENETRATE INTO THE AIRSPACE OF SAUDI ARABIA (FIR JEDDAH (OEJD)), EXCEPT
- FOR THE USE OF JEDDAH AERODROME (OEJN) AND TABUK AERODROME (OETB). - FOR ROUTES ON WHICH A FLIGHT LEVEL ABOVE OR EQUAL TO FL320 IS REQUESTED TO BE MAINTAIN AT ALL TIMES AND ARE LOCATED WEST OF THE SEGMENTS DEFINED BY THE FOLLOWING REPORTING POINTS, RESPECTING THE SEQUENCE BELOW :
OBSOT 295451N373455E
DANOM 225454N450509E
KEDON 202516N555850E
- FOR THE USE OF YENBO AERODROME (OEYN) AND TAIF AERODROME (OETF) AS ALTERNATE ONLY.
THE AIR OPERATOR MUST CARRY OUT A ROBUST RISK ASSESSMENT TO ENSURE THAT THE FLIGHT CAN BE CONDUCTED UNDER SATISFACTORY SAFETY AND SECURITY CONDITIONS BEFORE ENTERING THIS AREA AND BEFORE OPERATING FLIGHTS TO JEDDAH AIRPORT (OEJN).
THIS NOTAM SUPERSEDES THE RESTRICTIONS CONCERNING SAUDI ARABIA AIRSPACE (FIR JEDDAH (OEJD)) ISSUED IN PARAGRAPH 3.13 SAUDI ARABIA OF THE AIC NR 02/26 CURRENTLY IN EFFECT.

F0668/26

FRENCH AIR CARRIERS AND CAPTAINS OF AIRCRAFT IN CHARGE OF AIR SERVICES OPERATED BY CARRIERS HOLDING AN OPERATING LICENSE ISSUED BY FRANCE, WHETHER THEY ARE CONTRACTUAL CARRIERS AND/OR OPERATING CARRIERS, OR PERFORMING AIR SERVICES THROUGH A WET LEASE OR A CODESHARE AGREEMENT AS WELL AS FOR ANY FLIGHT MADE WITH AN AIRCRAFT REGISTERED IN FRANCE ARE REQUESTED NOT TO PENETRATE INTO THE ENTIRE AIRSPACE OF JORDAN (FIR AMMAN (OJAC

F0667/26

FRENCH AIR CARRIERS AND CAPTAINS OF AIRCRAFT IN CHARGE OF AIR SERVICES OPERATED BY CARRIERS HOLDING AN OPERATING LICENSE ISSUED BY FRANCE, WHETHER THEY ARE CONTRACTUAL CARRIERS AND/OR OPERATING CARRIERS, OR PERFORMING AIR SERVICES THROUGH A WET LEASE OR A CODESHARE AGREEMENT AS WELL AS FOR ANY FLIGHT MADE WITH AN AIRCRAFT REGISTERED IN FRANCE ARE REQUESTED NOT TO PENETRATE INTO THE ENTIRE AIRSPACE OF BAHRAIN (FIR BAHRAIN (OBBB

F0665/26

FRENCH AIR CARRIERS AND CAPTAINS OF AIRCRAFT IN CHARGE OF AIR SERVICES OPERATED BY CARRIERS HOLDING AN OPERATING LICENSE ISSUED BY FRANCE, WHETHER THEY ARE CONTRACTUAL CARRIERS AND/OR OPERATING CARRIERS, OR PERFORMING AIR SERVICES THROUGH A WET LEASE OR A CODESHARE AGREEMENT AS WELL AS FOR ANY FLIGHT MADE WITH AN AIRCRAFT REGISTERED IN FRANCE ARE REQUESTED NOT TO PENETRATE INTO THE ENTIRE AIRSPACE OF QATAR (FIR DOHA (OTDF)).

F0666/26

FRENCH AIR CARRIERS AND CAPTAINS OF AIRCRAFT IN CHARGE OF AIR SERVICES OPERATED BY CARRIERS HOLDING AN OPERATING LICENSE ISSUED BY FRANCE, WHETHER THEY ARE CONTRACTUAL CARRIERS AND/OR OPERATING CARRIERS, OR PERFORMING AIR SERVICES THROUGH A WET LEASE OR A CODESHARE AGREEMENT AS WELL AS FOR ANY FLIGHT MADE WITH AN AIRCRAFT REGISTERED IN FRANCE ARE REQUESTED NOT TO PENETRATE INTO THE ENTIRE AIRSPACE OF KUWAIT (FIR KUWAIT (OKAC)).

F0663/26
FRENCH AIR CARRIERS AND CAPTAINS OF AIRCRAFT IN CHARGE OF AIR SERVICES OPERATED BY CARRIERS HOLDING AN OPERATING LICENSE ISSUED BY FRANCE, WHETHER THEY ARE CONTRACTUAL CARRIERS AND/OR OPERATING CARRIERS, OR PERFORMING AIR SERVICES THROUGH A WET LEASE OR A CODESHARE AGREEMENT AS WELL AS FOR ANY FLIGHT MADE WITH AN AIRCRAFT REGISTERED IN FRANCE ARE REQUESTED NOT TO PENETRATE INTO THE ENTIRE AIRSPACE OF UNITED ARAB EMIRATES (FIR EMIRATES (OMAE

F0664/26
FRENCH AIR CARRIERS AND CAPTAINS OF AIRCRAFT IN CHARGE OF AIR SERVICES OPERATED BY CARRIERS HOLDING AN OPERATING LICENSE ISSUED BY FRANCE, WHETHER THEY ARE CONTRACTUAL CARRIERS AND/OR OPERATING CARRIERS, OR PERFORMING AIR SERVICES THROUGH A WET LEASE OR A CODESHARE AGREEMENT AS WELL AS FOR ANY FLIGHT MADE WITH AN AIRCRAFT REGISTERED IN FRANCE ARE REQUESTED NOT TO PENETRATE INTO THE ENTIRE AIRSPACE OF LEBANON (FIR BEIRUT (OLBB)).

F0662/26
FRENCH AIR CARRIERS AND CAPTAINS OF AIRCRAFT IN CHARGE OF AIR SERVICES OPERATED BY CARRIERS HOLDING AN OPERATING LICENSE ISSUED BY FRANCE, WHETHER THEY ARE CONTRACTUAL CARRIERS AND/OR OPERATING CARRIERS, OR PERFORMING AIR SERVICES THROUGH A WET LEASE OR A CODESHARE AGREEMENT AS WELL AS FOR ANY FLIGHT MADE WITH AN AIRCRAFT REGISTERED IN FRANCE ARE REQUESTED NOT TO PENETRATE INTO THE ENTIRE AIRSPACE OF IRAQ (FIR BAGHDAD (ORBB)).
THIS NOTAM SUPERSEDES THE RESTRICTIONS CONCERNING IRAQ AIRSPACE (FIR BAGHDAD (ORBB)) ISSUED IN PARAGRAPH 3.2 IRAQ OF THE AIC NR 02/26 CURRENTLY IN EFFECT.

F0660/26
FRENCH AIR CARRIERS AND CAPTAINS OF AIRCRAFT IN CHARGE OF AIR SERVICES OPERATED BY CARRIERS HOLDING AN OPERATING LICENSE ISSUED BY FRANCE, WHETHER THEY ARE CONTRACTUAL CARRIERS AND/OR OPERATING CARRIERS, OR PERFORMING AIR SERVICES THROUGH A WET LEASE OR A CODESHARE AGREEMENT AS WELL AS FOR ANY FLIGHT MADE WITH AN AIRCRAFT REGISTERED IN FRANCE ARE REQUESTED NOT TO PENETRATE INTO THE ENTIRE AIRSPACE OF IRAN (FIR TEHRAN (OIIX)).
THIS NOTAM SUPERSEDES THE RESTRICTIONS CONCERNING IRAN AIRSPACE (FIR TEHRAN (OIIX)) ISSUED IN PARAGRAPH 3.14 IRAN OF THE AIC NR 02/26 CURRENTLY IN EFFECT.

P1364/26
WINDTURBINE E5705-5 LIGHTS **U/S** - RDL046/14.2NM LFJL ARP :
PSN 490823.35N 0063045.97E
HEIGHT : 476FT
ELEV : 1657FT.

P1328/26
WINDTURBINE E5210-8 (RDL010/8,1NM ARP LFSU) LGT **U/S**
PSN : 480547,7N 0051947,40E
HGT : 480FT
ELEV : 1832FT

P1314/26
WINDTURBINE E2107-3 LGT **U/S** - RDL277/10.3NM ARP LFGF
PSN : 465957.61N 0043822.50E
HGT : 427FT
ELEV : 2231FT

F0581/26

FRENCH AIR CARRIERS AND CAPTAINS OF AIRCRAFT IN CHARGE OF AIR SERVICES OPERATED BY CARRIERS HOLDING AN OPERATING LICENSE ISSUED BY FRANCE, WHETHER THEY ARE CONTRACTUAL CARRIERS AND/OR OPERATING CARRIERS, OR PERFORMING AIR SERVICES THROUGH A WET LEASE OR A CODESHARE AGREEMENT AS WELL AS FOR ANY FLIGHT MADE WITH AN AIRCRAFT REGISTERED IN FRANCE ARE REQUESTED NOT TO PENETRATE INTO THE AIRSPACE OF LIBYA (FIR TRIPOLI (HLLL)) EXCEPT OF THE TWO-WAY ROUTES SEGMENTS M999 (ZARZAITINE SEBHA) AND G655 (SEBHA GARIN), ON WHICH A FLIGHT LEVEL ABOVE OR EQUAL TO FL320 IS REQUESTED TO BE MAINTAINED AT ALL TIMES.
THE AIR OPERATOR MUST CARRY OUT A ROBUST RISK ASSESSMENT TO ENSURE THAT THE FLIGHT CAN BE CONDUCTED UNDER SATISFACTORY SAFETY AND SECURITY CONDITIONS BEFORE ENTERING IN LYBIAN AIRSPACE.
THIS NOTAM SUPERSEDES THE RESTRICTIONS CONCERNING LYBIA AIRSPACE (FIR TRIPOLI (HLLL)) ISSUED IN PARAGRAPH 3.3 LYBIA OF THE AIC NR 02/26 CURRENTLY IN EFFECT.

F0321/26

RUSSIA AND BELARUS RESTRICTIONS :
1- ALL AIRCRAFT REGISTERED IN RUSSIA OR OPERATED BY RUSSIAN AIR CARRIERS, INCLUDING AS A MARKETING CARRIER IN CODE-SHARING OR BLOCKED-SPACE ARRANGEMENTS OR OWNED, CHARTERED OR OPERATED BY A RUSSIAN NATURAL OR LEGAL PERSON, ENTITY OR BODY ARE PROHIBITED TO LAND IN, TAKE OFF FROM OR OVERFLY THE FRENCH SOVEREIGN AIRSPACE EXCEPT IN CASE OF EMERGENCY LANDING OR EMERGENCY OVERFLIGHT AND EXCEPT FOR FLIGHTS HOLDING A PERMISSION DELIVERED IN ACCORDANCE WITH THE APPROPRIATE EU REGULATION BY THE FRENCH AUTHORITIES
2- ALL AIRCRAFT OPERATED BY BELARUSIAN AIR CARRIERS, INCLUDING AS A MARKETING CARRIER IN CODE-SHARING OR BLOCKED-SPACE ARRANGEMENTS, ARE PROHIBITED TO LAND IN, TAKE OFF FROM OR OVERFLY THE FRENCH SOVEREIGN AIRSPACE
EXCEPT IN CASE OF EMERGENCY LANDING OR EMERGENCY OVERFLIGHT AND EXCEPT FOR FLIGHTS HOLDING A PERMISSION DELIVERED IN ACCORDANCE WITH THE APPROPRIATE EU REGULATION BY THE FRENCH AUTHORITIES
3- IT SHALL BE PROHIBITED TO PARTICIPATE, KNOWINGLY AND INTENTIONALLY, IN ACTIVITIES THE OBJECT OR EFFECT OF WHICH IS TO CIRCUMVENT THESE PROHIBITIONS.

P4268/25

WIND TURBINE E5521-4 LIGHTING **U/S** :
RDL331/9.61NM ARP LFFT
PSN : 483017.57N 0053614.06E
HEIGHT : 414FT
ELEV : 1769FT

F1665/25

EUROCONTROL LOGON LIST FUNCTIONALITY SET UP FOR THE EN-ROUTE CENTRES OF BORDEAUX ACC, BREST ACC, MARSEILLE ACC, PARIS ACC AND REIMS ACC.
ONLY AIRCRAFT VALIDATED BY EUROCONTROL IN THE LOGON LIST CAN CONNECT TO THE CPDLC SERVICES OF THESE ACC.

F1418/25
DUE TO A TECHNICAL UPDATE,SOME PHONE NUMBERS OF THE
'CINQ-MARS-LA-PILE' CTL AND DETECTION CENTER '(CDC)' ARE CHANGING.
ONLY THE FLW PHONE NUMBERS HAVE TO BE USED :
'CSCAM': +33 2.45.34.16.02 (862 927 1602)
'BIV': +33 2.45.34.16.03 (862 927 1603)
'MC': +33 2.45.34.16.05 (862 927 1605) AND +33 2.45.34.16.06 (862 927 1606)
'TPO': +33 2.45.34.16.09 (862 927 1609)
'OMC': +33 2.45.34.16.10 (862 927 1610)
'FA': +33 2.45.34.16.11 (862 927 1611)
'OPS MANAGER' : +33 2.45.34.14.00 (862 927 1400)
'CDC CINQ MARS LA PILE POC' : +33 2 45 34 28 63

F0627/25
APPLICATION OF THE NEW EUROPEAN REGULATION IR SERA 2024/404 IN FORCE
ON MAY 1ST, 2025 WITH THE INTRODUCTION OF POINT SERA.14083
RELATING TO PROCEDURES IN CASE OF RADIO COMMUNICATION FAILURE.
MODIFICATION OF RADIO FAILURE PROCEDURE : INTRODUCTION OF THE NEW EMERGENCY CODE 7601 AND MODIFICATION OF THE 7-MINUTE RULE TO 20 MINUTES.
REF AIP ENR1.1

++++++++++++++++++++++ RESTRICTED AIRSPACE ++++++++++++++++++++++

R1131/26 VALID: 20-APR-26 1530 - 20-APR-26 1900
RESTRICTED AREAS LF-R163 A B AND C 'GROSTENQUIN-POLYGONE'
ACTIVATED.
F) SFC G) FL075

R1172/26
AIP SUP 059/26 ACT :
FLW ZRT ACT :
ZRT YONNE : 0000-2359
ZRT ARMANCON ALPHA : 0000-2359
ZRT ARMANCON BRAVO : 0815-1045 1200-1415
ZRT SEINE : 0000-2359
ZRT AUBE ALPHA : 0000-2359
ZRT AUBE BRAVO : 0815-1045 1200-1415
ZRT MARNE ALPHA : 0000-2359
ZRT MARNE BRAVO : 0815-1045 1200-1415
ZRT ORNAIN BRAVO : 0815-1045 1200-1415
ZRT SUIPPES BRAVO : 0815-1045 1200-1415
ZRT AISNE BRAVO : 0815-1045 1200-1415
F) SFC G) FL195

R1006/26
TRIGGER NOTAM - AIP SUP 059/26
CREATION OF 15 TEMPORARY RESTRICTED AREAS ('ZRT') FOR 'ORION 26/O42' EXERCISE.
THE 'ZRT' ARE ACT BY NOTAM WITH 48HR PRIOR NOTICE.
THIS AIP SUP IS **AVBL** AT WWW.SIA.AVIATION-CIVILE.GOUV.FR
F) SFC G) FL195

R1190/26
MISSING AREAS ON 1:500,000 MAP :
ADD THE FOLLOWING AREAS : LF-CBA16B, EU-C25SL, EU-C25SLZ, EU-C25SLP, EU-C25SLPZ ET EU-CBAC25FW.
REFERENCE AIP FRANCE 5.2-17 AND 22.
F) FL065 G) FL115

R0836/26
TRIGGER NOTAM - PERM AIRAC AIP AMDT 04/26 WEF 16 APR 2026.
MODIFICATION LF-R97
F) 3800FT AMSL G) FL065

R0837/26
TRIGGER NOTAM - PERM AIRAC AIP AMDT 04/26 WEF 16 APR 2026.
MODIFICATION LF-R104
F) SFC G) FL110

R0839/26
TRIGGER NOTAM - PERM AIRAC AIP AMDT 04/26 WEF 16 APR 2026.
MODIFICATION LF-R163C
F) 4000FT AMSL G) FL075

R0838/26
TRIGGER NOTAM - PERM AIRAC AIP AMDT 04/26 WEF 16 APR 2026.
MODIFICATION LF-R110B
F) 2500FT AMSL G) 5000FT AMSL

R0841/26
TRIGGER NOTAM - PERM AIRAC AIP AMDT 04/26 WEF 16 APR 2026.
MODIFICATION LF-R505
F) SFC G) 1700FT AMSL

R0840/26
TRIGGER NOTAM - PERM AIRAC AIP AMDT 04/26 WEF 16 APR 2026.
MODIFICATION LF-R164
F) SFC G) 6500FT AMSL

R0842/26
TRIGGER NOTAM - PERM AIRAC AIP AMDT 04/26 WEF 16 APR 2026.
MODIFICATION LF-D216
F) SFC G) 3600FT AMSL

R0846/26
TRIGGER NOTAM - PERM AIRAC AIP AMDT 04/26 WEF 16 APR 2026.
WITHDRAWAL OF LF-R150 A, B, C1, D1, D2
F) GND G) FL115

R0847/26
TRIGGER NOTAM - PERM AIRAC AIP AMDT 04/26 WEF 16 APR 2026.
WITHDRAWAL OF LF-R168
F) SFC G) 5000FT AMSL

R0850/26
TRIGGER NOTAM - PERM AIRAC AIP AMDT 04/26 WEF 16 APR 2026.
CREATION LF-R615B
F) SFC G) 1400FT AMSL

R0849/26
TRIGGER NOTAM - PERM AIRAC AIP AMDT 04/26 WEF 16 APR 2026.
CREATION LF-R613
F) SFC G) 5000FT AMSL

R0848/26
TRIGGER NOTAM - PERM AIRAC AIP AMDT 04/26 WEF 16 APR 2026.
CREATION LF-R614
F) SFC G) 2300FT AMSL

R0851/26
TRIGGER NOTAM - PERM AIRAC AIP AMDT 04/26 WEF 16 APR 2026.
CREATION LF-R615A
F) SFC G) 1400FT AMSL

R0901/26
TRIGGER NOTAM - PERM AIRAC AIP AMDT 04/26 WEF 16 APR 2026.
'PARC NATIONAL DES FORETS' NATIONAL PARK NR021 MODIFIED
F) SFC G) 3300FT AGL

W0320/26
TRIGGER NOTAM - PERM AIRAC AIP AMDT 04/26 WEF 16 APR 2026.
WITHDRAWAL OF MODEL FLYING 8024 TART LE HAUT
F) GND G) 2300FT AMSL

W0321/26
TRIGGER NOTAM - PERM AIRAC AIP AMDT 04/26 WEF 16 APR 2026.
WITHDRAWAL OF MODEL FLYING 8112
F) GND G) 1500FT AMSL

W0324/26
TRIGGER NOTAM - PERM AIRAC AIP AMDT 04/26 WEF 16 APR 2026.
MODIFICATION OF MODEL FLYING ACT 8090 BOUZONVILLE
F) GND G) 1700FT AMSL

W0329/26
TRIGGER NOTAM - PERM AIRAC AIP AMDT 04/26 WEF 16 APR 2026.
MODEL FLYING ACT 8080-1 REPLACED BY '8080 SARRALBE'
F) GND G) 200FT AGL

W0330/26
TRIGGER NOTAM - PERM AIRAC AIP AMDT 04/26 WEF 16 APR 2026.
WITHDRAWAL OF MODEL FLYING ACT 8080-2
F) GND G) 1200FT AMSL

W0336/26
TRIGGER NOTAM - PERM AIRAC AIP AMDT 04/26 WEF 16 APR 2026.
WITHDRAWAL OF MODEL FLYING ACT 8480
F) GND G) 450FT AGL

W0337/26
TRIGGER NOTAM - PERM AIRAC AIP AMDT 04/26 WEF 16 APR 2026.
MODIFICATION OF MODEL FLYING ACT 8362 PLUXIEUX
F) GND G) 1650FT AMSL

R1000/26
TRIGGER NOTAM - AIP SUP 053/26 :
CREATION OF 95 TEMPORARY RESTRICTED AREAS ('ZRT') AND OF 4
TEMPORARY DANGEROUS AREAS ('ZDT') AT MEDIUM AND HIGH ALTITUDE FOR
THE TRANSIT AND EVOLUTION OF STATE DRONES IN THE NORTH OF FRANCE.
THE 'ZRT' ARE ACTIVABLE BY NOTAM WITH 0600 NOTICE WHEN **ACTIVATED**
FOR SECURITY REASONS AND AT D-1 BEFORE 1100 (SUM -1HR) FOR
EXERCISE OR TRAINING PURPOSES.
THIS AIP SUP IS **AVBL** AT WWW.SIA.AVIATION-CIVILE.GOUV.FR
F) FL125 G) FL215

R1007/26
TRIGGER NOTAM - AIP SUP 060/26
EXPERIMENTAL CREATION OF A TEMPORARY RESTRICTED AREA (ZRT
CHENEVIERES) FOR MILITARY TRAINING IN THE CHENEVIERES REGION.
THE 'ZRT' CAN BE **ACTIVATED** BY NOTAM WITH 48HR NOTICE.
THIS AIP SUP IS **AVBL** AT WWW.SIA.AVIATION-CIVILE.GOUV.FR
F) 800FT AGL G) 6500FT AMSL

R0904/26
MAR 23-27 30-31 H24, APR 01-03 06-10 13-17 20-24 27-30 H24, MAY ,
01 04-08 11-15 18-22 H24
RESTRICTED AREA LF-R174 **ACTIVATED**
F) SFC G) 1700FT AMSL

W2673/25
MODEL FLYING ACTIVITY N8090 BOUZONVILLE (57) MODIFIED :
- UPPER LIMIT RAISED TO 750FT ASFC
- PSN: 491731N 0063417E
REF AIP FRANCE ENR 5.5
F) SFC G) 1700FT AMSL

W2674/25
MODEL FLYING ACTIVITY N8080-2 SARRALBE-2 (57) **WITHDRAWN**
PSN: 485851N 0070157E
REF AIP FRANCE ENR 5.5
F) SFC G) 1200FT AMSL

W2678/25
MODEL FLYING ACTIVITY N8480 SAIZERAIS (54) **WITHDRAWN**
PSN: 484712N 0060127E
REF AIP FRANCE ENR 5.5
F) SFC G) 450FT AGL

W2691/25
WINCHING ACTIVITY NR 957 'MEYENHEIM' **WITHDRAWN**
PSN : 475500N 0072400E
REF ENR 5.5
F) SFC G) 1700FT AMSL

R3169/25
TRIGGER NOTAM - AIP SUP 216/25 :
OUT OF SIGHT UNMANNED ACFT FLIGHTS IN 'METZ' AREA REQUIRING THE CREATION OF A TEMPORARY RESTRICTED AREA ('ZRT METZ-THIONVILLE').
THIS AIP SUP IS **AVBL** AT WWW.SIA.AVIATION-CIVILE.GOUV.FR
F) SFC G) 330FT AGL

W2566/25
DRONES ACT OVER 'MEISTRATZHEIM' :
DAY AND NIGHT DRONE SWARM FLIGHTS CARRYING PYROTECHNIC CHARGES, OUTSIDE AEM 8034 MEISTRATZHEIM ACT.
PSN : 482721N 0073408E
RDL207/5.7NM LFST
F) SFC G) 400FT AGL

R2096/25
TRIGGER NOTAM - AIP SUP 159/25 : WEAPON AIRCRAFT TRAINING REQUIRING
THE CREATION, ON AN EXPERIMENTAL BASIS, OF 3 TEMPORARY RESTRICTED AREAS IN THE SAINT-DIZIER REGION.
THIS AIP SUP IS **AVBL** AT WWW.SIA.AVIATION-CIVILE.GOUV.FR
F) FL065 G) FL195

W1339/25
WINCHING ACTIVITY NR947 'TRITTELING-REDLACH' (57) **WITHDRAWN**
PSN: 490500N 0063800E
REF ENR5.5
F) SFC G) 1000FT AGL

W1341/25
WINCHING ACTIVITY NR 948 'MARANGE' (57) **WITHDRAWN**
PSN : 490600N 0063100E
REF ENR5.5
F) SFC G) 1000FT AGL

W1343/25
WINCHING ACTIVITY NR949 'GUENVILLER'(57) **WITHDRAWN**
PSN : 490700N 0064800E
REF ENR5.5
F) SFC G) 1000FT AGL

W1345/25
MODEL FLYING ACTIVITY NR8362 'PUXIEUX' MODIFIED :
- UPPER LIMIT RAISED TO 800FT ASFC
- HOURS OF ACTIVITY : 0700-1730 (SUM -1HR) DAYLIGHT ONLY
PSN : 490415N 0055343E
REF ENR5.5
F) SFC G) 1650FT AMSL

W1347/25
MODEL FLYING ACTIVITY NR8024 'TART-LE-HAUT' (21) **WITHDRAWN**
PSN : 471121N 0051257E
REF ENR5.5
F) SFC G) 2300FT AMSL

W1349/25
MODEL FLYING ACTIVITY NR8112 'THORAISE' (25) **WITHDRAWN**
PSN : 471100N 0055331E
REF ENR5.5
F) SFC G) 1500FT AMSL

R1172/25
TRIGGER NOTAM - AIP SUP 088/25 MODIFIED :
UAV FLIGHTS IN CHAUMONT, MAILLY, SUIPPES AND SISSONNE REGIONS
REQUIRING THE CREATION OF A 5 TEMPORARY RESTRICTED AREAS.
THESE AREAS CAN BE **ACTIVATED** FROM MON 05H00 TO FRI 11H00 (SUM :
-1HR) EXCEPT ON PUB HOL, BY A D-7 PRIOR NOTICE NOTAM.

--- 'ZRT TRANSIT B', HAND AMEND THE COORDINATES OF THE POINT AFTER
THE FIRST ARC OF CIRCLE :
READ 483250N 0042902E INSTEAD OF 083250N 0042902E.

THIS AIP SUP IS **AVBL** AT WWW.SIA.AVIATION-CIVILE.GOUV.FR
F) FL055 G) FL125

R1032/25
TRIGGER NOTAM - AIP SUP 233/24 MODIFIED :
REMOTELY PILOTED AIRCRAFT FLYING OVER FRANCE UPPER AIRSPACE
REQUIRING THE CREATION OF A TEMPORARY DANGEROUS AREA AND TEMPORARY
RESTRICTED AREAS.
THESE AREAS ARE **ACTIVATED** BY NOTAM 48HR BEFORE (ON WORKING DAY).

CORRECT FOR READ :
RELEVANT AUTHORITIES CONTACT DETAILS
'CDC LYON MONT VERDUN' (RAMBERT) : +33 4 87 65 61 99

THIS AIP SUP IS **AVBL** AT WWW.SIA.AVIATION-CIVILE.GOUV.FR
F) FL490 G) FL550

++++++++++++++++++++++++++++ ROUTE ++++++++++++++++++++++++++++

F1752/25
'NORTH EAST' FRA CELL - AIRAC AIP AMDT, CHART ENR 6.2 ED2/2025 :
ADD THE FOLLOWING SEGMENTS :
AWY B3 : RLP-VUCTU / VERMA-CMB
AWY J10 : DIKOL-SUIPE
AWY L613 : VESAN-RATUK / RATUK-SOVAT
AWY L615 : LUREN-DJL
AWY N57 : EGOZE-ABB
AWY N872 : MEDIL-LESDO
AWY N873 : ADUTO-VEKIN
AWY N874 : VENOR-EGOZE / NURMO-VENOR / PERON-NURMO / SULEX-PERON /
CMB-SULEX / VEKIN-CMB
AWY Q763 : TALUD-RAPOR
AWY T22 : ABB-RATUK
AWY T37 : TRO-BOLLY / BOLLY-KASON / KASON-DJL
AWY T372 : VERMA-LESDO
AWY Y473 : LUMIL-TULNI
AWY Z110 : AMPUM-VAVOT / VAVOT-MMD
AWY Z173 : VEKIN-ARVOL
AWY Z373 : CMB-ARVOL
FOR MORE DETAILS, REFERENCE AIP FRANCE ENR 3.2.

LFFF FRANCE FIR/UIR

++++++++++++++++++++++++++++ FIR/UIR ++++++++++++++++++++++++++++++

P1507/26
OBSTACLE NR E1800-2 TOP LIGHTING **U/S** :
RDL 288/6.2NM LFLD ARP
PSN: 470535.68N 0021331.64E
HEIGHT : 492FT
ELEV: 905FT
P1505/26
OBSTACLE NR E280D TOP LIGHTING **U/S** (2 WINDTURBINES AMONG 29)-
RDL : 126/12.7NM LFOR ARP
NUMBER OF WINDTURBINES LIGHTS **U/S** : E280D-7 AND E280D-12
AVERAGE PSN : 482000N 0014643E
HEIGHT: 388FT
ELEV : 877FT
F0729/26
20 1100-1230 1245-1430, 21 22 0730-0930 1100-1230 1245-1430
DISRUPTION OF THE SIGNAL RECEIVED BY GPS RECEIVERS WI THE
'PLOUHINEC' REGION CENTRED ON PSN 474058N 0031627W - RISK OF GNSS
JAMMING, VOLUMES OF IMPACT CENTRED ON PSN :
246NM AU FL400
192NM AU FL250
153NM AU FL150
123NM AU FL100
78NM A 4000FT
- IF GPS DISRUPTIONS ARE OBSERVED, REPORT INFORMATION TO THE
RELEVANT ATS.
P1494/26
OBSTACLE NR 41061 TOP LIGHTING **U/S**
RDL 325/16.5NM LFOQ ARP
PSN : 475345.43N 0005823.04E
HEIGHT : 391FT
ELEV : 855FT
P1493/26
WINDTURBINE E0253-1 LIGHTING **U/S** :
- PSN : 495049N 0034312E
- ELEV : 945FT
- HGT : 443FT
F0717/26 VALID: 20-APR-26 0800 - 20-APR-26 1830
RENNES FIS REDUCED TO A BARE MINIMUM ON FREQ 134.000MHZ (RENNES
SOUTHERN FIS, A AND B PARTS), 126.950MHZ (RENNES NORTHERN FIS),
134.200MHZ (RENNES FIS COTENTIN, A AND B PARTS), 120.350MHZ
(RENNES FIS COTENTIN, A AND C PARTS):
- THE ENTRY WITHIN 'RENNES' D CLASS TMA AND CTR REMAINS SUBMITTED
TO AUTHORISATION,
- IF FORCED TO ENTER WITHIN RENNES CTR AND TMA, OR DUE TO SAFETY
REASON, CONTACT INVOLVED AIRSPACE FREQ,
- IF NO INFORMATION PROVIDED FROM ANOTHER ATS AUTHORITY, DO
CONSIDER SPORTING AND RECREATIONAL ACT AS WELL AS D AND R
RESTRICTED AREAS AS **ACTIVATED**.
F0744/26 VALID: 20-APR-26 0700 - 20-APR-26 1900
AUTO METAR AND TAF NOT PROVIDED.
P1476/26
LIGHTS OF WIND TURBINE E0205-11 **U/S**
-PSN : 494131N - 0034806E
- ELEV : 811FT
- HEIGHT : 476FT

P1449/26
MEASURING MAST AT 'AUBIN SAINT VAAST' LGT **U/S** (OBST BEING PUBLISHED IN ENR 5.4, SEE NOTAM P1085/26 PERM).
- PSN : 502304.9N 0015639.14E

P1442/26
WINDTURBINES E5204-7, E5204-10 AND E5204-11 LIGHTING **U/S** - RDL045/6.8NM LFFJ ARP :
- MEDIUM PSN : 482758.7N 0051553.2E
- MAX HEIGHT : 410FT
- MAX ELEV : 1627FT.

P1441/26
MEASURING MAST NR 08061 (RDL 136/6.3NM LFAP) LGT **U/S** :
- PSN : 492409.56N 0042838.91E
- HGT : 329FT
- ELEV : 724FT.

F0491/26
TRIGGER NOTAM - PERM AIRAC AIP AMDT 04/26 WEF 16 APR 2026. MODIFICATION CTR ETAIN

F0492/26
TRIGGER NOTAM - PERM AIRAC AIP AMDT 04/26 WEF 16 APR 2026. MODIFICATION TMA NANCY

F0495/26
TRIGGER NOTAM - PERM AIRAC AIP AMDT 04/26 WEF 16 APR 2026. SETTING UP OF DAY VFR TRANSIT ITINERARIES OVER 'PARC NATIONAL DE FORET'.

F0498/26
TRIGGER NOTAM - PERM AIRAC AIP AMDT 04/26 WEF 16 APR 2026. CREATION OF SEINE TMZ

F0508/26
TRIGGER NOTAM - PERM AIRAC AIP AMDT 04/26 WEF 16 APR 2026. LTA 1 FRANCE MODIFIED

F0507/26
TRIGGER NOTAM - PERM AIRAC AIP AMDT 04/26 WEF 16 APR 2026. LTA 2 FRANCE **WITHDRAWN**

F0509/26
TRIGGER NOTAM - PERM AIRAC AIP AMDT 04/26 WEF 16 APR 2026. SETTING UP OF PARIS S CTA

F0510/26
TRIGGER NOTAM - PERM AIRAC AIP AMDT 04/26 WEF 16 APR 2026. SETTING UP OF PARIS N CTA

F0511/26
TRIGGER NOTAM - PERM AIRAC AIP AMDT 04/26 WEF 16 APR 2026. SETTING UP OF PARIS H CTA

F0518/26
TRIGGER NOTAM - PERM AIRAC AIP AMDT 04/26 WEF 16 APR 2026. SECTOR S PARIS ACC : FREQ MODIFICATION

F0519/26
TRIGGER NOTAM - PERM AIRAC AIP AMDT 04/26 WEF 16 APR 2026. SECTOR UJ PARIS UAC : FREQ MODIFICATION

F0701/26
OBSTACLE NR 41061 LIGHTING **U/S**
RDL 325/16.5NM LFOQ ARP
PSN : 475345.43N 0005823.04E
HEIGHT : 391FT
ELEV : 855FT

F0670/26

FRENCH AIR CARRIERS AND CAPTAINS OF AIRCRAFT IN CHARGE OF AIR SERVICES OPERATED BY CARRIERS HOLDING AN OPERATING LICENSE ISSUED BY FRANCE, WHETHER THEY ARE CONTRACTUAL CARRIERS AND/OR OPERATING CARRIERS, OR PERFORMING AIR SERVICES THROUGH A WET LEASE OR A CODESHARE AGREEMENT AS WELL AS FOR ANY FLIGHT MADE WITH AN AIRCRAFT REGISTERED IN FRANCE ARE REQUESTED NOT TO PENETRATE INTO THE AIRSPACE OF OMAN (FIR MUSCAT (OOMM)), EXCEPT :
- MAINTAINING ALL TIMES A FLIGHT LEVEL ABOVE OR EQUAL TO FL320, FOR ROUTES LOCATED SOUTH OF THE SEGMENTS DEFINED BY THE FOLLOWING REPORTING POINTS, RESPECTING THE SEQUENCE BELOW :
DANOM 225454N450509E
KEDON 202516N555850E
VELOD 234617N573430E
THE AIR OPERATOR MUST CARRY OUT A ROBUST RISK ASSESSMENT TO ENSURE THAT THE FLIGHT CAN BE CONDUCTED UNDER SATISFACTORY SAFETY AND SECURITY CONDITIONS BEFORE ENTERING THIS AREA.

F0669/26

FRENCH AIR CARRIERS AND CAPTAINS OF AIRCRAFT IN CHARGE OF AIR SERVICES OPERATED BY CARRIERS HOLDING AN OPERATING LICENSE ISSUED BY FRANCE, WHETHER THEY ARE CONTRACTUAL CARRIERS AND/OR OPERATING CARRIERS, OR PERFORMING AIR SERVICES THROUGH A WET LEASE OR A CODESHARE AGREEMENT AS WELL AS FOR ANY FLIGHT MADE WITH AN AIRCRAFT REGISTERED IN FRANCE ARE REQUESTED NOT TO PENETRATE INTO THE AIRSPACE OF SAUDI ARABIA (FIR JEDDAH (OEJD)), EXCEPT
- FOR THE USE OF JEDDAH AERODROME (OEJN) AND TABUK AERODROME (OETB). - FOR ROUTES ON WHICH A FLIGHT LEVEL ABOVE OR EQUAL TO FL320 IS REQUESTED TO BE MAINTAIN AT ALL TIMES AND ARE LOCATED WEST OF THE SEGMENTS DEFINED BY THE FOLLOWING REPORTING POINTS, RESPECTING THE SEQUENCE BELOW :
OBSOT 295451N373455E
DANOM 225454N450509E
KEDON 202516N555850E
- FOR THE USE OF YENBO AERODROME (OEYN) AND TAIF AERODROME (OETF) AS ALTERNATE ONLY.
THE AIR OPERATOR MUST CARRY OUT A ROBUST RISK ASSESSMENT TO ENSURE THAT THE FLIGHT CAN BE CONDUCTED UNDER SATISFACTORY SAFETY AND SECURITY CONDITIONS BEFORE ENTERING THIS AREA AND BEFORE OPERATING FLIGHTS TO JEDDAH AIRPORT (OEJN).
THIS NOTAM SUPERSEDES THE RESTRICTIONS CONCERNING SAUDI ARABIA AIRSPACE (FIR JEDDAH (OEJD)) ISSUED IN PARAGRAPH 3.13 SAUDI ARABIA OF THE AIC NR 02/26 CURRENTLY IN EFFECT.

F0668/26

FRENCH AIR CARRIERS AND CAPTAINS OF AIRCRAFT IN CHARGE OF AIR SERVICES OPERATED BY CARRIERS HOLDING AN OPERATING LICENSE ISSUED BY FRANCE, WHETHER THEY ARE CONTRACTUAL CARRIERS AND/OR OPERATING CARRIERS, OR PERFORMING AIR SERVICES THROUGH A WET LEASE OR A CODESHARE AGREEMENT AS WELL AS FOR ANY FLIGHT MADE WITH AN AIRCRAFT REGISTERED IN FRANCE ARE REQUESTED NOT TO PENETRATE INTO THE ENTIRE AIRSPACE OF JORDAN (FIR AMMAN (OJAC

F0667/26

FRENCH AIR CARRIERS AND CAPTAINS OF AIRCRAFT IN CHARGE OF AIR SERVICES OPERATED BY CARRIERS HOLDING AN OPERATING LICENSE ISSUED BY FRANCE, WHETHER THEY ARE CONTRACTUAL CARRIERS AND/OR OPERATING CARRIERS, OR PERFORMING AIR SERVICES THROUGH A WET LEASE OR A CODESHARE AGREEMENT AS WELL AS FOR ANY FLIGHT MADE WITH AN AIRCRAFT REGISTERED IN FRANCE ARE REQUESTED NOT TO PENETRATE INTO THE ENTIRE AIRSPACE OF BAHRAIN (FIR BAHRAIN (OBBB

F0665/26
FRENCH AIR CARRIERS AND CAPTAINS OF AIRCRAFT IN CHARGE OF AIR SERVICES OPERATED BY CARRIERS HOLDING AN OPERATING LICENSE ISSUED BY FRANCE, WHETHER THEY ARE CONTRACTUAL CARRIERS AND/OR OPERATING CARRIERS, OR PERFORMING AIR SERVICES THROUGH A WET LEASE OR A CODESHARE AGREEMENT AS WELL AS FOR ANY FLIGHT MADE WITH AN AIRCRAFT REGISTERED IN FRANCE ARE REQUESTED NOT TO PENETRATE INTO THE ENTIRE AIRSPACE OF QATAR (FIR DOHA (OTDF)).

F0666/26
FRENCH AIR CARRIERS AND CAPTAINS OF AIRCRAFT IN CHARGE OF AIR SERVICES OPERATED BY CARRIERS HOLDING AN OPERATING LICENSE ISSUED BY FRANCE, WHETHER THEY ARE CONTRACTUAL CARRIERS AND/OR OPERATING CARRIERS, OR PERFORMING AIR SERVICES THROUGH A WET LEASE OR A CODESHARE AGREEMENT AS WELL AS FOR ANY FLIGHT MADE WITH AN AIRCRAFT REGISTERED IN FRANCE ARE REQUESTED NOT TO PENETRATE INTO THE ENTIRE AIRSPACE OF KUWAIT (FIR KUWAIT (OKAC)).

F0663/26
FRENCH AIR CARRIERS AND CAPTAINS OF AIRCRAFT IN CHARGE OF AIR SERVICES OPERATED BY CARRIERS HOLDING AN OPERATING LICENSE ISSUED BY FRANCE, WHETHER THEY ARE CONTRACTUAL CARRIERS AND/OR OPERATING CARRIERS, OR PERFORMING AIR SERVICES THROUGH A WET LEASE OR A CODESHARE AGREEMENT AS WELL AS FOR ANY FLIGHT MADE WITH AN AIRCRAFT REGISTERED IN FRANCE ARE REQUESTED NOT TO PENETRATE INTO THE ENTIRE AIRSPACE OF UNITED ARAB EMIRATES (FIR EMIRATES (OMAE

F0664/26
FRENCH AIR CARRIERS AND CAPTAINS OF AIRCRAFT IN CHARGE OF AIR SERVICES OPERATED BY CARRIERS HOLDING AN OPERATING LICENSE ISSUED BY FRANCE, WHETHER THEY ARE CONTRACTUAL CARRIERS AND/OR OPERATING CARRIERS, OR PERFORMING AIR SERVICES THROUGH A WET LEASE OR A CODESHARE AGREEMENT AS WELL AS FOR ANY FLIGHT MADE WITH AN AIRCRAFT REGISTERED IN FRANCE ARE REQUESTED NOT TO PENETRATE INTO THE ENTIRE AIRSPACE OF LEBANON (FIR BEIRUT (OLBB)).

F0662/26
FRENCH AIR CARRIERS AND CAPTAINS OF AIRCRAFT IN CHARGE OF AIR SERVICES OPERATED BY CARRIERS HOLDING AN OPERATING LICENSE ISSUED BY FRANCE, WHETHER THEY ARE CONTRACTUAL CARRIERS AND/OR OPERATING CARRIERS, OR PERFORMING AIR SERVICES THROUGH A WET LEASE OR A CODESHARE AGREEMENT AS WELL AS FOR ANY FLIGHT MADE WITH AN AIRCRAFT REGISTERED IN FRANCE ARE REQUESTED NOT TO PENETRATE INTO THE ENTIRE AIRSPACE OF IRAQ (FIR BAGHDAD (ORBB)).
THIS NOTAM SUPERSEDES THE RESTRICTIONS CONCERNING IRAQ AIRSPACE (FIR BAGHDAD (ORBB)) ISSUED IN PARAGRAPH 3.2 IRAQ OF THE AIC NR 02/26 CURRENTLY IN EFFECT.

F0660/26
FRENCH AIR CARRIERS AND CAPTAINS OF AIRCRAFT IN CHARGE OF AIR SERVICES OPERATED BY CARRIERS HOLDING AN OPERATING LICENSE ISSUED BY FRANCE, WHETHER THEY ARE CONTRACTUAL CARRIERS AND/OR OPERATING CARRIERS, OR PERFORMING AIR SERVICES THROUGH A WET LEASE OR A CODESHARE AGREEMENT AS WELL AS FOR ANY FLIGHT MADE WITH AN AIRCRAFT REGISTERED IN FRANCE ARE REQUESTED NOT TO PENETRATE INTO THE ENTIRE AIRSPACE OF IRAN (FIR TEHRAN (OIIX)).
THIS NOTAM SUPERSEDES THE RESTRICTIONS CONCERNING IRAN AIRSPACE (FIR TEHRAN (OIIX)) ISSUED IN PARAGRAPH 3.14 IRAN OF THE AIC NR 02/26 CURRENTLY IN EFFECT.

P1363/26
TOP OF OBSTACLE NR E2815-1 LIGHTING **U/S** :
RDL 188/7.8NM LFOR ARP
PSN : 481951.15N 0012926.33E
HEIGHT : 410FT
ELEV : 905FT.

P1344/26
OBST NR E2815-2 AND NR E2815-4 (2 WINDTURBINES OUT OF 6) LIGHTING **U/S** :
-RDL 190/8.15NM LFOR ARP
-PSN : 481929N 0012912E
-HEIGHT : 410FT
-ELEV : 899FT

F0638/26
'SAINT-YAN' CTR AND TMA ATS HOURS OF OPS :
MON-FRI EXC MAY 01 08 25 : 0600-2100
OUTSIDE THESE HOURS, UPON 72HR PPR TO **AD** ADMINISTRATION

P1312/26
OBST NR E5204-1 AND NR E5204-8 (EOLIENNES) LIGHTING **U/S** :
RDL 038/7.3NM LFFJ ARP
MEDIUM PSN : 482842.7N 0051519.8E
MAX HEIGHT : 410FT
MAX ELEV : 1653FT

P1309/26
WIND TURBINES E5147-11 AND E5147-12 LGT **U/S** (RDL112/8.3NM ARP LFFZ)
MEAN PSN : 483924.3N 0035715.2E
HGT : 657FT
ELEV : 979FT.

F0598/26
'ZS' SECTOR FREQ MODIFIED, READ 135.965MHZ
REF GEN 3.4-7 - UAC BREST

F0564/26
TMA SEINE HOURS OF OPS : 0500-2000

P1218/26
OBST NR E620Y LGT **U/S** (4 WINDTURBINES OUT OF 8) - RDL275/12.6NM LFQD ARP:
- PSN: 502036N 0022841E
- HGT: 493FT
- ELEV: 956FT.

P1206/26
OBST E620U LIGHTING **U/S** (2 WINDTURBINES OUT OF 6) :
- RDL286/13.4NM ARP LFQD
- PSN : 502312N 0022813E
- HEIGHT : 493FT
- ELEV : 982FT.

P1205/26
OBST E6202 LIGHTS **U/S** (2 WINDTURBINES OUT OF 22) - RDL190/9.9NM LFQN ARP :
-AVERAGE PSN : 503359N 0021120E
-HEIGHT : 328FT
-ELEV : 925FT.

P1204/26
OBST NR E6201 LIGHTING **U/S** (2 WINDTURBINES OUT OF 17) - RDL 208/10.6NM ARP LFQN :
- MEAN PSN : 503408N 0020549E
- HEIGHT : 410FT
- ELEVATION : 1004FT.

F0581/26
FRENCH AIR CARRIERS AND CAPTAINS OF AIRCRAFT IN CHARGE OF AIR SERVICES OPERATED BY CARRIERS HOLDING AN OPERATING LICENSE ISSUED BY FRANCE, WHETHER THEY ARE CONTRACTUAL CARRIERS AND/OR OPERATING CARRIERS, OR PERFORMING AIR SERVICES THROUGH A WET LEASE OR A CODESHARE AGREEMENT AS WELL AS FOR ANY FLIGHT MADE WITH AN AIRCRAFT REGISTERED IN FRANCE ARE REQUESTED NOT TO PENETRATE INTO THE AIRSPACE OF LIBYA (FIR TRIPOLI (HLLL)) EXCEPT OF THE TWO-WAY ROUTES SEGMENTS M999 (ZARZAITINE SEBHA) AND G655 (SEBHA GARIN), ON WHICH A FLIGHT LEVEL ABOVE OR EQUAL TO FL320 IS REQUESTED TO BE MAINTAINED AT ALL TIMES.
THE AIR OPERATOR MUST CARRY OUT A ROBUST RISK ASSESSMENT TO ENSURE THAT THE FLIGHT CAN BE CONDUCTED UNDER SATISFACTORY SAFETY AND SECURITY CONDITIONS BEFORE ENTERING IN LYBIAN AIRSPACE.
THIS NOTAM SUPERSEDES THE RESTRICTIONS CONCERNING LYBIA AIRSPACE (FIR TRIPOLI (HLLL)) ISSUED IN PARAGRAPH 3.3 LYBIA OF THE AIC NR 02/26 CURRENTLY IN EFFECT.

P1088/26
PYLON NR 02001 LIGHTING **U/S** :
- PSN : 495143N - 0040055E
- ELEVATION : 1404FT
- HEIGHT : 666FT.

P1087/26
OBSTACLE NR 02001 (PYLON) LGT **U/S** :
- PSN : 495143N 0040055E
- ELEV : 1404FT
- HEIGHT : 666FT.

P1035/26
WINDTURBINE E6007-14 LIGHTS **U/S**
RDL 097/8.1NM LFOB BEAUVAIS TILLE
- PSN : 492613N 0021908E
- ELEV : 725FT
- HGT : 410FT

P1024/26
WINDTURBINE NR E6011-2 LIGHTING **U/S** :
- PSN : 492941N 0022734E
- ELEV : 890FT
- HEIGHT : 414FT

P1006/26
OBSTACLE NR E4503 LGT **U/S** (2 WIND TURBINES OUT OF 5)
RDL 119/10.6NM LFOC ARP
WIND TURBINES : E4503-4 AND E4503-5
MEAN PSN : 475815N 0013618E
HGT : 410FT AGL
ELEV : 814FT AMSL.

P0952/26
OBST MAST NR 80137 LIGHTING **U/S** :
- PSN : 495429N 0020441E
- HEIGHT : 403FT
- ELEVATION : 784FT.

P0908/26
WINDTURBINE E280D-12 LGT **U/S** - RDL125/13NM LFOR :
-PSN : 482007.52N 0014727.36E
-HGT : 388FT
-ELEV : 877FT.

P0905/26
OBSTACLE NR E2814-6 LIGHTS **U/S** :
-RDL326/33.44NM LFOZ
RDL131/6.3NM LFOR
-PSN : 482325N 0013834E
-HEIGHT : 410FT
-ELEV : 912FT.

P0812/26
OBSTACLE NR 76168 LGT **U/S**
RDL 172/11.51 NM LFAE ARP
PSN 495237N 0012757E
HGT 404FT AGL
ELEV 833FT AMSL

P0785/26
OBSTACLE NR E280D-7 LIGHTING **U/S** (1 WINDTURBINE OUT OF 29) :
- RDL 155/11.74NM LFFL ARP
- PSN : 482011.06N 0014542.41E
- HEIGHT : 388FT
- ELEV : 874FT.

P0681/26
OBST NR E6205 LIGHTING **U/S** - RDL 214/11.3NM ARP LFIS :
- PSN : 504337N 0013420E
- HEIGHT : 541FT
- ELEVATION : 564FT.

F0321/26
RUSSIA AND BELARUS RESTRICTIONS :
1- ALL AIRCRAFT REGISTERED IN RUSSIA OR OPERATED BY RUSSIAN AIR CARRIERS, INCLUDING AS A MARKETING CARRIER IN CODE-SHARING OR BLOCKED-SPACE ARRANGEMENTS OR OWNED, CHARTERED OR OPERATED BY A RUSSIAN NATURAL OR LEGAL PERSON, ENTITY OR BODY ARE PROHIBITED TO LAND IN, TAKE OFF FROM OR OVERFLY THE FRENCH SOVEREIGN AIRSPACE EXCEPT IN CASE OF EMERGENCY LANDING OR EMERGENCY OVERFLIGHT AND EXCEPT FOR FLIGHTS HOLDING A PERMISSION DELIVERED IN ACCORDANCE WITH THE APPROPRIATE EU REGULATION BY THE FRENCH AUTHORITIES
2- ALL AIRCRAFT OPERATED BY BELARUSIAN AIR CARRIERS, INCLUDING AS A MARKETING CARRIER IN CODE-SHARING OR BLOCKED-SPACE ARRANGEMENTS, ARE PROHIBITED TO LAND IN, TAKE OFF FROM OR OVERFLY THE FRENCH SOVEREIGN AIRSPACE
EXCEPT IN CASE OF EMERGENCY LANDING OR EMERGENCY OVERFLIGHT AND EXCEPT FOR FLIGHTS HOLDING A PERMISSION DELIVERED IN ACCORDANCE WITH THE APPROPRIATE EU REGULATION BY THE FRENCH AUTHORITIES
3- IT SHALL BE PROHIBITED TO PARTICIPATE, KNOWINGLY AND INTENTIONALLY, IN ACTIVITIES THE OBJECT OR EFFECT OF WHICH IS TO CIRCUMVENT THESE PROHIBITIONS.

P0645/26
MODIFICATION COORDONNEES TOUR 53014 A PRE-EN-PAIL-ST-SAMSON
RDL 271/10.33NM ARP LFOF ALENCON-VALFRAMBERT
PSN: 482657N 0000903.49W
HAUT: 201FT
ALT AU SOMMET: 1546FT
BALISAGE: NIL
REF AIP FRANCE DATASET ENR 5.4

P0599/26
OBSTACLE NR 45011 LIGHTING **U/S** - RDL 262/1.5NM HSPS ARP :
- PSN : 475605N 0015023E
- HEIGHT : 240FT
- ELEVATION : 663FT.

P0366/26
WINDTURBINE E8092-6 LIGHTING **U/S** :
PSN : 495023N 0024637E
ELEV : 787FT
HEIGHT : 492FT.
P0359/26
WINDTURBINE E760H-5 LGT **U/S** RDL 002/9.75NM LFFY:
PSN: 492805.54N 0013845.32E
HGT 410FT
ELEV 1148FT
F1774/25
VFR PROHIBITED ABOVE FL115 WITHIN SECTORS CONTROLLED BY PARIS CTL EXC FOR SPECIAL ACT AUTHORIZED BY PARIS CTL.
F1665/25
EUROCONTROL LOGON LIST FUNCTIONALITY SET UP FOR THE EN-ROUTE CENTRES OF BORDEAUX ACC, BREST ACC, MARSEILLE ACC, PARIS ACC AND REIMS ACC.
ONLY AIRCRAFT VALIDATED BY EUROCONTROL IN THE LOGON LIST CAN CONNECT TO THE CPDLC SERVICES OF THESE ACC.
F1418/25
DUE TO A TECHNICAL UPDATE,SOME PHONE NUMBERS OF THE 'CINQ-MARS-LA-PILE' CTL AND DETECTION CENTER '(CDC)' ARE CHANGING.
ONLY THE FLW PHONE NUMBERS HAVE TO BE USED :
'CSCAM': +33 2.45.34.16.02 (862 927 1602)
'BIV': +33 2.45.34.16.03 (862 927 1603)
'MC': +33 2.45.34.16.05 (862 927 1605) AND +33 2.45.34.16.06 (862 927 1606)
'TPO': +33 2.45.34.16.09 (862 927 1609)
'OMC': +33 2.45.34.16.10 (862 927 1610)
'FA': +33 2.45.34.16.11 (862 927 1611)
'OPS MANAGER' : +33 2.45.34.14.00 (862 927 1400)
'CDC CINQ MARS LA PILE POC' : +33 2 45 34 28 63
H0214/25
CREATION OF 'HELISTATION AIR TOURAINE'
AT NEUVY LE ROY
PSN : 473450N 0003618E
ALTITUDE : 310FT
AXIS : 070/250
FATO = TLOF (3.6T) : 20 X 20M
LGT : NIL
REF **AD** 1.3
F0627/25
APPLICATION OF THE NEW EUROPEAN REGULATION IR SERA 2024/404 IN FORCE
ON MAY 1ST, 2025 WITH THE INTRODUCTION OF POINT SERA.14083 RELATING TO PROCEDURES IN CASE OF RADIO COMMUNICATION FAILURE.
MODIFICATION OF RADIO FAILURE PROCEDURE : INTRODUCTION OF THE NEW EMERGENCY CODE 7601 AND MODIFICATION OF THE 7-MINUTE RULE TO 20 MINUTES.
REF AIP ENR1.1

++++++++++++++++++++++++++++ WAYPOINT ++++++++++++++++++++++++++++

F0652/26
VOR BNE 113.800MHZ **U/S**.
F0244/26
FRANCE FREE ROUTE AIRSPACE - NORTH EAST CELL (LFFRANE) - SIGNIFICANT POINT BELOW FRA FUNCTION MODIFIED.
READ :
-ENORI=FRA(AI): LFFRANE, LFPG, FL195-660
-REF AIP ENR 4.4

F1805/25
FRANCE FREE ROUTE AIRSPACE - NORTH EAST CELL (LFFRANE) -
SIGNIFICANT POINT BELOW FRA FUNCTIONS MODIFIED.
READ :
- OKRIX= FRA(ID) : LFFRANE, LFLA, LFOK, LFQB, LFQA, LFSI, LFOA,
LFQG, LFLD, LFOJ, LFOZ, LFLC, LFLV, FL195-660
- REF AIP ENR 4.4

++++++++++++++++++++++ RESTRICTED AIRSPACE ++++++++++++++++++++++

R1182/26
LFCBA-16B **ACTIVATED**.
F) FL065 G) FL115
R1172/26
AIP SUP 059/26 ACT :
FLW ZRT ACT :
ZRT YONNE : 0000-2359
ZRT ARMANCON ALPHA : 0000-2359
ZRT ARMANCON BRAVO : 0815-1045 1200-1415
ZRT SEINE : 0000-2359
ZRT AUBE ALPHA : 0000-2359
ZRT AUBE BRAVO : 0815-1045 1200-1415
ZRT MARNE ALPHA : 0000-2359
ZRT MARNE BRAVO : 0815-1045 1200-1415
ZRT ORNAIN BRAVO : 0815-1045 1200-1415
ZRT SUIPPES BRAVO : 0815-1045 1200-1415
ZRT AISNE BRAVO : 0815-1045 1200-1415
F) SFC G) FL195
R0974/26
RESTRICTED AREA LF-R114C 'SISSONNE' **ACTIVATED**.
F) 2200FT AMSL G) FL085
R1006/26
TRIGGER NOTAM - AIP SUP 059/26
CREATION OF 15 TEMPORARY RESTRICTED AREAS ('ZRT') FOR 'ORION
26/O42' EXERCISE.
THE 'ZRT' ARE ACT BY NOTAM WITH 48HR PRIOR NOTICE.
THIS AIP SUP IS **AVBL** AT WWW.SIA.AVIATION-CIVILE.GOUV.FR
F) SFC G) FL195
R1190/26
MISSING AREAS ON 1:500,000 MAP :
ADD THE FOLLOWING AREAS : LF-CBA16B, EU-C25SL, EU-C25SLZ,
EU-C25SLP, EU-C25SLPZ ET EU-CBAC25FW.
REFERENCE AIP FRANCE 5.2-17 AND 22.
F) FL065 G) FL115
R1065/26
TRIGGER NOTAM - AIP SUP 067/26 :
CREATION OF 2 TEMPORARY RESTRICTED AREAS ('ZRT') FOR UNMANNED ACFT
FLYING OUT OF SIGHT IN THE SOUTH OF PARIS.
ACTIVATION OF THE ZRT BY NOTAM.
THIS AIP SUP IS **AVBL** AT WWW.SIA.AVIATION-CIVILE.GOUV.FR
F) SFC G) 500FT AGL
R0856/26
TRIGGER NOTAM - PERM AIRAC AIP AMDT 04/26 WEF 16 APR 2026.
CREATION OF ZONE LF-R205/11
F) FL115 G) FL195
R0884/26
TRIGGER NOTAM - PERM AIRAC AIP AMDT 04/26 WEF 16 APR 2026. SETTING
UP OF 'LA SEINE CHAMPENOISE NR730' NATURE RESERVE
F) SFC G) 1000FT AGL

R0893/26
TRIGGER NOTAM - PERM AIRAC AIP AMDT 04/26 WEF 16 APR 2026.
CREATION OF 'LE MANS LES CROISETTES' NR955 DETENTION CENTRE
OVERFLIGHT PROHIBITION
F) SFC G) 3300FT AGL

R0896/26
TRIGGER NOTAM - PERM AIRAC AIP AMDT 04/26 WEF 16 APR 2026.
CREATION OF 'BAPAUME' DETENTION CENTRE NR965 OVERFLIGHT
PROHIBITION F) SFC G) 3300FT AGL

R0897/26
TRIGGER NOTAM - PERM AIRAC AIP AMDT 04/26 WEF 16 APR 2026.
WITHDRAWAL OF 'CLAIRVAUX' DETENTION CENTRE NR660 OVERFLIGHT
PROHIBITION
F) SFC G) 3300FT AGL

R0901/26
TRIGGER NOTAM - PERM AIRAC AIP AMDT 04/26 WEF 16 APR 2026.
'PARC NATIONAL DES FORETS' NATIONAL PARK NR021 MODIFIED
F) SFC G) 3300FT AGL

W0312/26
TRIGGER NOTAM - PERM AIRAC AIP AMDT 04/26 WEF 16 APR 2026.
CREATION OF MODEL FLYING ACT 9979 DAMMARTIN EN SERVE
F) GND G) 1400FT AMSL

W0317/26
TRIGGER NOTAM - PERM AIRAC AIP AMDT 04/26 WEF 16 APR 2026.
WITHDRAWAL OF MODEL FLYING 8202 SAINT SIMON
F) GND G) 1800FT AMSL

W0319/26
TRIGGER NOTAM - PERM AIRAC AIP AMDT 04/26 WEF 16 APR 2026.
WITHDRAWAL OF MODEL FLYING 8537 VILLENEUVE LE ROI
F) GND G) 50FT AGL

W0326/26
TRIGGER NOTAM - PERM AIRAC AIP AMDT 04/26 WEF 16 APR 2026.
MODIFICATION OF MODEL FLYING ACT 8274 SANDILLON
F) GND G) 500FT AGL

W0332/26
TRIGGER NOTAM - PERM AIRAC AIP AMDT 04/26 WEF 16 APR 2026.
WITHDRAWAL OF MODEL FLYING ACT 8212
F) GND G) 1300FT AMSL

W0333/26
TRIGGER NOTAM - PERM AIRAC AIP AMDT 04/26 WEF 16 APR 2026.
WITHDRAWAL OF MODEL FLYING ACT 8542 VONCQ
F) GND G) 800FT AMSL

W0334/26
TRIGGER NOTAM - PERM AIRAC AIP AMDT 04/26 WEF 16 APR 2026.
MODIFICATION OF MODEL FLYING ACT 8700 LAMOTTE BEUVRON
F) GND G) 1400FT AMSL

W0339/26
TRIGGER NOTAM - PERM AIRAC AIP AMDT 04/26 WEF 16 APR 2026.
CREATION OF MODEL FLYING ACT 9978 BARZY SUR MARNE
F) GND G) 400FT AGL

W0347/26
TRIGGER NOTAM - PERM AIRAC AIP AMDT 04/26 WEF 16 APR 2026.
MODIFICATION OF MODEL FLYING ACT 8240
F) GND G) 500FT AGL

W0350/26
TRIGGER NOTAM - PERM AIRAC AIP AMDT 04/26 WEF 16 APR 2026.
CREATION OF MODEL FLYING ACT 9981 AUBIGNY SUR NERE
F) SFC G) 330FT AGL

W0354/26
TRIGGER NOTAM - PERM AIRAC AIP AMDT 04/26 WEF 16 APR 2026.
CREATION OF MODEL FLYING ACT 9982 ELETOT
F) SFC G) 200FT AGL

R1000/26
TRIGGER NOTAM - AIP SUP 053/26 :
CREATION OF 95 TEMPORARY RESTRICTED AREAS ('ZRT') AND OF 4
TEMPORARY DANGEROUS AREAS ('ZDT') AT MEDIUM AND HIGH ALTITUDE FOR
THE TRANSIT AND EVOLUTION OF STATE DRONES IN THE NORTH OF FRANCE.
THE 'ZRT' ARE ACTIVABLE BY NOTAM WITH 0600 NOTICE WHEN **ACTIVATED**
FOR SECURITY REASONS AND AT D-1 BEFORE 1100 (SUM -1HR) FOR
EXERCISE OR TRAINING PURPOSES.
THIS AIP SUP IS **AVBL** AT WWW.SIA.AVIATION-CIVILE.GOUV.FR
F) FL125 G) FL215

W0522/26
SPECIFIC ACTIVITY NR 51-001 'BETHENY' (51) MODIFIED :
-HOURS OF OPS : H24
-PSN : 491813N 0040156E.
F) SFC G) 800FT AMSL

W0540/26
MON TUE THU FRI 1530-SS, WED 1230-SS, SAT SUN SR-SS
AEROBATICS OVER 'MARVILLE PRIVATE AD' (55) - RDL255/6.3NM LFGS
ARP :
-AXIS 120/300 LENGTH 1000M CENTRED ON PSN : 492727N 0052454E
-HOURS OF ACTIVITY OUT OF LF-R45N3 ACTIVATION
-USERS INFO :
.PARIS INFO 125.700MHZ
.ETAIN APP 120.125MHZ.
F) 1500FT AGL G) 5000FT AMSL

R1081/26
TRIGGER NOTAM - AIP SUP 215/25 MODIFIED :
CREATION OF 14 TEMPORARY RESTRICTED AREAS (ZRT) AND 4 TEMPORARY
DANGER AREAS (ZDT) FOR UNMANNED AIRCRAFT FLYING OUT OF SIGHT OVER
THE EASTERN CHANNEL AND THE ENGLISH CHANNEL STRAIT.

--- -
THE PROVISIONS INCLUDED IN THIS AIP SUP ARE IN FORCE TIL MAY 13
2359.

--- -
THIS AIP SUP IS **AVBL** AT WWW.SIA.AVIATION-CIVILE.GOUV.FR
F) SFC G) 1500FT AMSL

R0982/26
07-10 13-17 20-24 27-30 SR-SS
LF-R602 ABLIS ACT:
INFO: PARIS INFO 126.100MHZ 129.625MHZ
F) SFC G) 2500FT AMSL

R0835/26
TRIGGER NOTAM - AIP SUP 050/26 :
CREATION OF A TEMPORARY RESTRICTED AREA (ZRT SAINT HILAIRE) IN THE
SOUTH OF ORLEANS FOR UNMANNED ACFT OPERATIONS.
THIS AIP SUP IS **AVBL** AT WWW.SIA.AVIATION-CIVILE.GOUV.FR
F) SFC G) 1600FT AMSL

R0693/26
TUE-THU SR-1300
TEMPORARY RESTRICTED AREA (ZRT) OVER 'DREUX SENONCHES' AIR BASE :
UNMANNED ACFT FLIGHTS
1- LATERAL LIMITS :
CIRCLE OF 1NM RADIUS CENTRED ON PSN 483842N 0010559E
2- STATUS :
TEMPO RESTRICTED AREA (ZRT), WHEN ACT, REPLACES THE OVERLAPPING PARTS OF AIRSPACE.
3- PROVIDED SERVICES :
FLIGHT INFORMATION AND ALERT PROVIDED BY 'SEINE INFO' OR 'PARIS CTL' OR 'LILLE INFO'.
4- ENTRY CONDITIONS GAT/OAT :
COMPULSORY AREA AVOIDANCE EXC :
. UNMANNED ACFT INVOLVED IN OPERATIONS
. ACFT CARRYING OUT MIL, CUSTOMS, POLICE, SEARCH AND RESCUE, FIRE FIGHTING, MEDICAL TRANSPORT OPERATIONS, WHEN FORCED TO ENTER THE AREA, AFTER PRIOR CONTACT TO MANAGER - PHONE : +33 7 64 86 92 53
-5 ACTUAL ACTIVITY KNOWN FROM :
LILLE INFO 134.825MHZ
SEINE INFO 127.815MHZ (DURING 'SEINE' ATS SKED)
-6 SPECIAL PROVISIONS :
AEROBATICS NR 6206 'DREUX SENONCHES' **SUSPENDED** WHEN ZRT ACT.
F) SFC G) 2600FT AMSL

R0751/26
TRIGGER NOTAM - AIP SUP 044/26 :
CREATION OF A TEMPORARY RESTRICTED AREAS ('ZRT MONTCEAU-LES-MINES-LA GUICHE') FOR UNMANNED ACFT OUT OF SIGHT DAYTIME FLIGHTS IN 'SAONE ET LOIRE'.
THIS AIP SUP IS **AVBL** AT WWW.SIA.AVIATION-CIVILE.GOUV.FR
F) SFC G) 330FT AGL

R0936/26
TRIGGER NOTAM - AIP SUP 094/25 :
PARACHUTING WITH CANOPY DRIFTING IN THE ROMORANTIN AREA REQUIRING THE CREATION OF 4 TEMPORARY RESTRICTED AREAS.
ACTIVITY FORECAST BY NOTAM WITH PPR 48HR.
THIS AIP SUP IS **AVBL** AT WWW.SIA.AVIATION-CIVILE.GOUV.FR
F) SFC G) FL285

R0446/26
TRIGGER NOTAM - AIRAC AIP SUP 023/26 :
CREATION OF TWO TEMPORARY RESERVED AREAS (TRA) IN UIR, TRA90NL AND TRA90NH, AND ASSOCIATED FBZ.
THIS AIP SUP IS **AVBL** AT WWW.SIA.AVIATION-CIVILE.GOUV.FR
F) FL195 G) FL335

R0564/26

TEMPORARY RESTRICTED AREA (ZRT) 'ZRT SOMME 2' :
-DESCRIPTION :
-UNMANNED ACFT FLIGHTS, BEYOND VISUAL LINE OF SIGHT,
-ZRT MAY BE **ACTIVATED** H24 WITH A 24HR PN,
-ZRT CENTRE : RDL302/8.5NM LFOI ARP
1-LATERAL LIMITS :
501654N 0013537E
501457N 0014121E
501012N 0014150E
501040N 0013207E
501654N 0013537E
2-VERTICAL LIMITS :
SR-30 / SS+30 : 500FT ASFC
SS+30 / SR-30 : 1500FT AMSL
3-STATUS :
TEMPORARY RESTRICTED AREA (ZRT) REPLACES THE OVERLAPPING AIRSPACE PARTS, EXCEPT RESTRICTED AREA LF-R400D 'DEP HOURDEL'.
4-SERVICES PROVIDED :
FLIGHT INFORMATION AND ALERT ARE PROVIDED BY 'LILLE INFO'.
5-OAT/GAT ENTRY CONDITIONS :
COMPULSORY AREA AVOIDANCE DURING ZRT ACTIVITY EXCEPT FOR :
-ACFT INVOLVED IN THE EXERCISE,
-AERIAL-WORK COMPANIES ACFT WITH A SPECIAL PERMISSION FROM FLIGHT HEIGHT RESTRICTIONS FOR ESSENTIAL OPERATIONS AFTER COORDINATION WITH THE RELEVANT AUTHORITY,
-ACFT ON MIL, CUSTOMS, POLICE, SEARCH AND RESCUE, FIREFIGHTING, MEDICAL TRANSPORT OPERATIONS WHEN FORCED TO ENTER THE AREA AFTER COORDINATION WITH THE RELEVANT AUTHORITY.
6-RELEVANT AUTHORITY :
-'COMFAG'
-PHONE : +33 630 089 289
: +33 145 373 137 / +33 145 373 139
7-INFO :
ACTUAL TIMES OF ACTIVITY ANNOUNCED ON 'LILLE INFO' 132.540MHZ
F) SFC G) 1500FT AMSL

R0566/26
TEMPORARY RESTRICTED AREA (ZRT) 'ZRT SOMME 1' :
-DESCRIPTION :
-UNMANNED ACFT FLIGHTS, BEYOND VISUAL LINE OF SIGHT,
-ZRT MAY BE **ACTIVATED** H24 WITH A 24HR PN,
-ZRT CENTRE : RDL195/17NM LFAT ARP
1-LATERAL LIMITS :
500803N 0012616E
502318N 0013347E
502136N 0013816E
500736N 0013008E
500803N 0012616E
2-VERTICAL LIMITS :
SR-30 / SS+30 : SFC / 500FT ASFC
SS+30 / SR-30 : SFC / 1500FT AMSL
3-STATUS :
TEMPORARY RESTRICTED AREA (ZRT) REPLACES THE OVERLAPPING AIRSPACE PARTS, EXCEPT RESTRICTED AREAS LF-R400E 'DEP AULT' AND LF-R400D 'DEP HOURDEL' (SUP AIP 215/25).
4-SERVICES PROVIDED :
FLIGHT INFORMATION AND ALERT ARE PROVIDED BY 'LILLE INFO'.
5-OAT/GAT ENTRY CONDITIONS :
COMPULSORY AREA AVOIDANCE DURING ZRT ACTIVITY EXCEPT FOR :
-ACFT INVOLVED IN THE EXERCISE,
-AERIAL-WORK COMPANIES ACFT WITH A SPECIAL PERMISSION FROM FLIGHT HEIGHT RESTRICTIONS FOR ESSENTIAL OPERATIONS AFTER COORDINATION WITH THE RELEVANT AUTHORITY
-ACFT ON MIL, CUSTOMS, POLICE, SEARCH AND RESCUE, FIREFIGHTING, MEDICAL TRANSPORT OPERATIONS WHEN FORCED TO ENTER THE AREA AFTER COORDINATION WITH THE RELEVANT AUTHORITY.
6-RELEVANT AUTHORITY :
-'COMFAG'
-PHONE : +33 630 089 289
PHONE : +33 145 373 137 / +33 145 373 139
7-INFO :
ACTUAL TIMES OF ACTIVITY ANNOUNCED ON 'LILLE INFO' 132.540MHZ
F) SFC G) 1500FT AMSL

R0441/26
TRIGGER NOTAM - AIP SUP 018/26 :
CREATION OF A TEMPORARY RESTRICTED 'ZRT DRONE COURTALAIN' DUE TO OUT OF SIGHT UNMANNED ACFT FLIGHTS IN 'CENTRE' REGION ACTIVABLE BY NOTAM WITH 48HR NOTICE.
THIS AIP SUP IS **AVBL** AT WWW.SIA.AVIATION-CIVILE.GOUV.FR
F) SFC G) 500FT AGL

R0445/26
TRIGGER NOTAM - AIP SUP 022/26 :
CREATION OF A TEMPORARY RESTRICTED AREA 'ZRT CUIRASSIER' IN THE ORLEANS BRICY REGION.
THE ZRT CAN BE **ACTIVATED** BY NOTAM WITH NOTICE OF 48HR.
THIS AIP SUP IS **AVBL** AT WWW.SIA.AVIATION-CIVILE.GOUV.FR
F) SFC G) 2100FT AMSL

R0444/26
TRIGGER NOTAM - AIP SUP 021/26 :
CREATION OF A TEMPORARY RESTRICTED AREA 'ZRT ARGENTAN' FOR UNMANNED AIRCRAFTS SURVEYS, OPERATING OUT OF SIGHT, IN THE ARGENTAN AREA (A88 FREEWAY).
ZRT ACTIVABLE BY NOTAM WITH 10 DAYS NOTICE.
THIS AIP SUP IS **AVBL** AT WWW.SIA.AVIATION-CIVILE.GOUV.FR
F) SFC G) 400FT AGL

R0034/26
NO-FLY ZONE NR660 'CLAIRVAUX' DETENTION CENTRE **WITHDRAWN**
PSN : 480900N 0044700E
F) SFC G) 3300FT AGL

W2675/25
MODEL FLYING ACTIVITY N8071 SAINT FLORENTIN CHEU AERODROME
WITHDRAWN
PSN: 475920N 0034605E
REF AIP FRANCE ENR 5.5
F) SFC G) 500FT AGL

W2676/25
MODEL FLYING ACTIVITY N8212 SOUCY (89) **WITHDRAWN**
PSN: 481421N 0031725E
REF AIP FRANCE ENR 5.5
F) SFC G) 1300FT AMSL

W2677/25
MODEL FLYING ACTIVITY N8542 VONCQ (08) **WITHDRAWN**
PSN: 492739N 0044003E
REF AIP FRANCE ENR 5.5
F) SFC G) 800FT AMSL

R3164/25
TRIGGER NOTAM - AIP SUP 212/25 :
CREATION OF A TEMPORARY RESTRICTED AREA (ZRT HIRSON) FOR DAY AND NIGHT OUT-OF-SIGHT UNMANNED FLIGHTS, IN THE HAUTS DE FRANCE AREA.
THIS AIP SUP IS **AVBL** AT WWW.SIA.AVIATION-CIVILE.GOUV.FR
F) SFC G) 400FT AGL

R3166/25
TRIGGER NOTAM - AIP SUP 214/25 :
DAILY AND NIGHTLY OUT OF SIGHT UNMANNED ACFT FLIGHTS IN THE 'HAUTS DE FRANCE' AREA REQUIRING THE CREATION OF A TEMPORARY RESTRICTED AREA ('ZRT AIRGHT').
THIS AIP SUP IS **AVBL** AT WWW.SIA.AVIATION-CIVILE.GOUV.FR
F) SFC G) 400FT AGL

W2579/25
MODEL FLYING ACTIVITY AT 'DAMMARTIN-EN-SERVE' (78)
- RDL 194/10.1NM ARP LFFC
- RDL 291/11.9NM ARP LFPF
- PSN : 485451N 0013740E
- UPPER LIMIT : 1000FT AGL (1400FT AMSL)
- SKED : SR-SS
REF AIP FRANCE ENR 5.5
F) SFC G) 1400FT AMSL

W2578/25
MODEL FLYING ACTIVITY AT 'BARZY-SUR-MARNE' (02)
- RDL 079/7.6NM ARP LFFH :
- PSN : 490525N 0033246E
- SKED : 0800-1800 (SUMMER -1HR)
- BY DAY ONLY
REF AIP FRANCE ENR 5.5
F) SFC G) 400FT AGL

W2571/25
MODEL FLYING ACTIVITY AT 'ELETOT'
- RDL 252/8NM ARP LFOS :
- PSN : 494718N 0002607E
- SKED : SR-SS
- SLOPE FLYING
REF AIP FRANCE ENR 5.5
F) SFC G) 200FT AGL

R2399/25
TEMPO PROHIBITED AREA (ZIT) 'SUIPPES MOURMELON 1' - ANTI DRONE STRUGGLE :
1. LATERAL LIMITS :
SAME AS LF-R175A 'SUIPPES' (REF AIP ENR 5.1)
2. STATUS :
ZIT WHICH COEXISTS WITH OVERLAPPING AIRSPACES, EXCLUDING LF-R503 MOURMELON STAT WHEN **ACTIVATED**.
3. ENTRY CONDITIONS :
- ENTRY PROHIBITED TO ANY UNMANNED ACFT, EXC UNMANNED ACFT PERFORMING MIL, CUSTOMS, POLICE, SEARCH AND RESCUE, FIRE-FIGHTING OR MEDICAL TRANSPORTATION ACT WHEN FORCED TO ENTER.
- EXEMPTION SUBMITTED TO MANAGER AGREEMENT WITH PN 05 DAYS.
4. PROVIDED SERVICES :
SERVICES ARE PROVIDED IN ACCORDANCE WITH AIRSPACES CLASSES WITH WHICH ZIT COEXISTS.
5. AUTHORITY TO CONTACT :
- 51RI / PC TIR
- TEL : +333.26.67.81.00
F) SFC G) 500FT AGL

R2488/25
TEMPO PROHIBITED AREA (ZIT) 'SUIPPES MOURMELON 2' - ANTI DRONE FIGHTS :
1. LATERAL LIMITS :
490752N 0042227E,
0.8NM RADIUS CLOCKWISE ARCUS CENTRED ON 490801N 0042112E,
490810N 0042000E,
490752N 0042227E.
2. STATUS :
ZIT WHICH COEXISTS WITH OVERLAPPING AIRSPACES, EXCLUDING LF-R503 'MOURMELON STAT' WHEN **ACTIVATED**.
3. ENTRY CONDITIONS :
- ENTRY PROHIBITED TO ANY UNMANNED ACFT, EXC UNMANNED ACFT PERFORMING MIL, CUSTOMS, POLICE, SEARCH AND RESCUE, FIRE-FIGHTING OR MEDICAL TRANSPORTATION ACT WHEN FORCED TO ENTER.
- EXEMPTION SUBMITTED TO MANAGER AGREEMENT WITH PN 05 DAYS
4. PROVIDED SERVICES :
SERVICES ARE PROVIDED IN ACCORDANCE WITH AIRSPACES CLASSES WITH WHICH ZIT COEXISTS.
5. AUTHORITY TO CONTACT :
- 51RI / PC TIR
- TEL : +333.26.67.81.00
F) SFC G) 500FT AGL

R2569/25
TEMPO PROHIBITED AREA (ZIT) 'MAILLY' - ANTI DRONE MEASURES :
1. LATERAL LIMITS :
SAME AS LF-R6A (REF AIP ENR 5.1)
2. STATUS :
'ZIT' WHICH COEXISTS WITH OVERLAPPING AIRSPACES
3. ENTRY CONDITIONS :
- ENTRY PROHIBITED TO ANY UNMANNED ACFT, EXC UNMANNED ACFT IN STATE MISSION (DEFENCE, 'GENDARMERIE', POLICE, CUSTOM, RFFS, CIVIL SAFETY AND RESCUE)
- EXEMPTION SUBMITTED TO MANAGER AGREEMENT WITH PN 05 OPENING DAYS
4. PROVIDED SERVICES :
SERVICES ARE PROVIDED IN ACCORDANCE WITH PARTS OF AIRSPACES CLASSE WITH WHICH 'ZIT' COEXISTS
5. AUTHORITY TO CONTACT (MANAGER) :
- CENTAC MAILLY
- TEL : +333 10 10 81 75 OR +333 10 10 82 22 OR +336 72 28 64 93.
F) SFC G) 500FT AGL

R2474/25
TRIGGER NOTAM - AIP SUP 176/25 MODIFIED :
OUT-OF-SIGHT UNMANNED FLIGHTS WITHIN THE SOUTHERN REGION OF 'CHARTRES', REQUIRING THE CREATION OF A TEMPORARY RESTRICTED AREA ('ZRT DRONE').
ZRT ACTIVABLE BY NOTAM WITH A MINIMUM OF 48HR NOTICE.

MODIFICATION :
ADD, IN 'LATERAL LIMITS' ITEM, THE COORDINATES 481902N 0015055E, AT THE END OF THE COORDINATES

THIS AIP SUP IS **AVBL** AT WWW.SIA.AVIATION-CIVILE.GOUV.FR
F) SFC G) 500FT AGL

R2096/25
TRIGGER NOTAM - AIP SUP 159/25 : WEAPON AIRCRAFT TRAINING REQUIRING
THE CREATION, ON AN EXPERIMENTAL BASIS, OF 3 TEMPORARY RESTRICTED AREAS IN THE SAINT-DIZIER REGION.
THIS AIP SUP IS **AVBL** AT WWW.SIA.AVIATION-CIVILE.GOUV.FR
F) FL065 G) FL195

R1655/25
TEMPORARY RESTRICTED AREA (ZRT) CLOSE TO FORGES LES EAUX:
UNMANED ACFT FLIGHT OUT OF SIGHT
1/ LATERAL LIMITS:
4.3 NM RADIUS CIRCLE CENTRED ON 493611N 0013124E
2/STATUS:
ZRT WHICH, WHEN **ACTIVATED**, REPLACES THE OTHER OVERLAPPING AIRSPACE PARTS.
3/PROVIDED SERVICES :
FLIGHT INFORMATION AND ALERT PROVIDED BY 'LILLE INFO' OR 'BEAUVAIS INFO'
4/ OAT/GAT ENTRY CONDITIONS :
COMPULSORY AVOIDANCE DURING ACTUAL ACTIVITY EXC :
-UNMANED ACFT PARTICIPATED TO OPERATION
-ACFT PERFORMING MILITARY, CUSTOMS, POLICE, SEARCH AND RESCUE, FIRE FIGHTING, MEDICAL TRANSPORTATION OPERATIONS WHEN FORCED TO ENTER AFTER COODINATION WITH OPERATION DIRECTOR(TEL: +33 279 580 040) 5/ACTUAL ACTIVITY KNOWN BY :
LILLE INFO: 134.825MHZ
BEAUVAIS APP: 123.985MHZ
F) SFC G) 400FT AGL

W1335/25
AEROBATICS ACTIVITY NR6457 'SAINCAIZE' (58) **WITHDRAWN**
PSN : 465600N 0030400E
REF ENR5.5
F) 2500FT AGL G) 4500FT AGL

R1172/25
TRIGGER NOTAM - AIP SUP 088/25 MODIFIED :
UAV FLIGHTS IN CHAUMONT, MAILLY, SUIPPES AND SISSONNE REGIONS
REQUIRING THE CREATION OF A 5 TEMPORARY RESTRICTED AREAS.
THESE AREAS CAN BE **ACTIVATED** FROM MON 05H00 TO FRI 11H00 (SUM :
-1HR) EXCEPT ON PUB HOL, BY A D-7 PRIOR NOTICE NOTAM.

--- 'ZRT TRANSIT B', HAND AMEND THE COORDINATES OF THE POINT AFTER
THE FIRST ARC OF CIRCLE :
READ 483250N 0042902E INSTEAD OF 083250N 0042902E.

THIS AIP SUP IS **AVBL** AT WWW.SIA.AVIATION-CIVILE.GOUV.FR
F) FL055 G) FL125

W0904/25
AEROBATICS ACTIVITY AT 'PRE SAINT MARTIN' :
AXIS 170/350
LENGTH 2000M
CENTRED ON PSN 481243N 0012936E (RDL 026/10NM ARP LFOC CHATEAUDUN)
WINTER SKED : 0900-1100 1300-1600 (SUMMER SKED : -1HR)
USERS INFORMATION :
SEINE INFO 127.815MHZ
PARIS INFO 129.625MHZ
F) 1500FT AMSL G) 4500FT AMSL

W0928/25
SR-SS
PARAGLIDER WINCHING ACT AT 'VIENNE EN VAL' :
RDL : 196/05NM LFOZ ARP
PSN : 474858N 0020749E
(FLASHING LIGHTS ON WINCH)
F) SFC G) 2000FT AMSL

R1032/25
TRIGGER NOTAM - AIP SUP 233/24 MODIFIED :
REMOTELY PILOTED AIRCRAFT FLYING OVER FRANCE UPPER AIRSPACE
REQUIRING THE CREATION OF A TEMPORARY DANGEROUS AREA AND TEMPORARY
RESTRICTED AREAS.
THESE AREAS ARE **ACTIVATED** BY NOTAM 48HR BEFORE (ON WORKING DAY).

CORRECT FOR READ :
RELEVANT AUTHORITIES CONTACT DETAILS
'CDC LYON MONT VERDUN' (RAMBERT) : +33 4 87 65 61 99

THIS AIP SUP IS **AVBL** AT WWW.SIA.AVIATION-CIVILE.GOUV.FR
F) FL490 G) FL550

R0685/25
TRIGGER NOTAM - AIP SUP 048/25
CREATION OF 6 TEMPO RESTRICTED AREAS (ZRT) AND 5 TEMPO **DANGER**
AREAS FOR UNMANNED ACFT FLYING OUT OF SIGHT IN THE BAY OF 'SEINE'
AND 'COTENTIN', ACTIVABLE BY NOTAM WITH A 48HR PN.
THIS AIP SUP IS **AVBL** AT WWW.SIA.AVIATION-CIVILE.GOUV.FR
F) SFC G) 2000FT AMSL

W2942/24
SR-SS
UNMANNED AIRCRAFT (UA) ACTIVITY ABOVE 'VAUDOY EN
BRIE' FOR EXPERIMENTS
PSN : 484024N 0030441E (COLOCATED WITH MODEL FLYING ACTIVITY AEM
NR 8604 'VAUDOY EN BRIE')
RDL 031/5.4NM ARP LFAI.
F) SFC G) 1400FT AMSL

++++++++++++++++++++++++++++++ ROUTE ++++++++++++++++++++++++++++++

F0695/26
REVERSAL OF THE PARITY OF THE LOWER ROUTE R50 :
- EVEN IN THE **DIRECTION** CAN-OKRUZ-ABB-OBIVA-CMB
- ODD IN THE **DIRECTION** CMB-OBIVA-ABB-OKRUZ-CAN

F1752/25
'NORTH EAST' FRA CELL - AIRAC AIP AMDT, CHART ENR 6.2 ED2/2025 :
ADD THE FOLLOWING SEGMENTS :
AWY B3 : RLP-VUCTU / VERMA-CMB
AWY J10 : DIKOL-SUIPE
AWY L613 : VESAN-RATUK / RATUK-SOVAT
AWY L615 : LUREN-DJL
AWY N57 : EGOZE-ABB
AWY N872 : MEDIL-LESDO
AWY N873 : ADUTO-VEKIN
AWY N874 : VENOR-EGOZE / NURMO-VENOR / PERON-NURMO / SULEX-PERON / CMB-SULEX / VEKIN-CMB
AWY Q763 : TALUD-RAPOR
AWY T22 : ABB-RATUK
AWY T37 : TRO-BOLLY / BOLLY-KASON / KASON-DJL
AWY T372 : VERMA-LESDO
AWY Y473 : LUMIL-TULNI
AWY Z110 : AMPUM-VAVOT / VAVOT-MMD
AWY Z173 : VEKIN-ARVOL
AWY Z373 : CMB-ARVOL
FOR MORE DETAILS, REFERENCE AIP FRANCE ENR 3.2.

F1751/25
'CENTER' FRA CELL - AIRAC AIP AMDT 12/25, CHART ENR 6.2 ED2/2025 :
ADD FOLLOWING SEGMENTS :
AWY A3 : MOU - OMANI / OMANI - FEDZI / FEDZI - LESPI.
FOR MORE DETAILS, REFERENCE AIP FRANCE ENR 3.2-2.

F1714/25
ADDITION OF THE SIGNIFICANT POINT 'PITHI' ON AWY N872 :
COORDINATES : 501126.5N 0033422.2E
MEDIL
204DEG 10NM FL500 FL115 PARIS/REIMS
PITHI
204DEG 25NM FL500 FL115 PARIS/REIMS
LESDO
REFERENCE AIP FRANCE ENR 3.2-56 AND ENR 4.4-25.

LSAS SWITZERLAND FIR/UIR

Please see section EXTENDED AREA AROUND DESTINATION

[Company NOTAM]

==========
CREW ALERT
==========

SB007/14
SUBJECT: AUTO COST INDEXES
WHEN PLANNING A COST INDEX, 2 OPTIONS ARE AVAILABLE. PILOTS MAY EITHER SELECT A SPECIFIC COST INDEX NUMBER FROM THE LIST, OR THEY MAY SELECT "AUTO". WHEN PLANNING AN "AUTO" COST INDEX, THE SYSTEM WILL REFERENCE THE SCHEDULED "TIME ENROUTE" OPTION AND ATTEMPT TO CHOOSE A COST INDEX WHICH CLOSELY MATCHES THIS VALUE. NOTE THAT THE "TIME ENROUTE" OPTION IS MEANT AS A GATE TO GATE TIME (AS INDICATED ON AN AIRLINE'S FLIGHT SCHEDULE, FOR EXAMPLE). IF A "TIME ENROUTE" OF 2:30 IS SELECTED, THE SYSTEM WILL SUBTRACT THE TAXI TIMES FROM THIS VALUE TO DETERMINE THE SCHEDULED AIR TIME. IT WILL THEN DETERMINE AND USE THE COST INDEX WHICH MATCHES THIS AIR TIME.

SB003/13
SUBJECT: FLIGHT RELEASE UNITS
ALL FLIGHT CREW: PLEASE PAY SPECIAL ATTENTION TO THE UNITS SELECTION WHEN GENERATING A FLIGHT PLAN. FAILURE TO IDENTIFY THE CORRECT UNITS WHEN REFUELING PRIOR TO FLIGHT CAN RESULT IN DEPARTING WITH INSUFFICIENT FUEL AND/OR AN ERRONEOUS PAYLOAD.

==========
CREW BULLETIN
==========

NIL

========== END OF LIDO-NOTAM-BULLETIN ==========

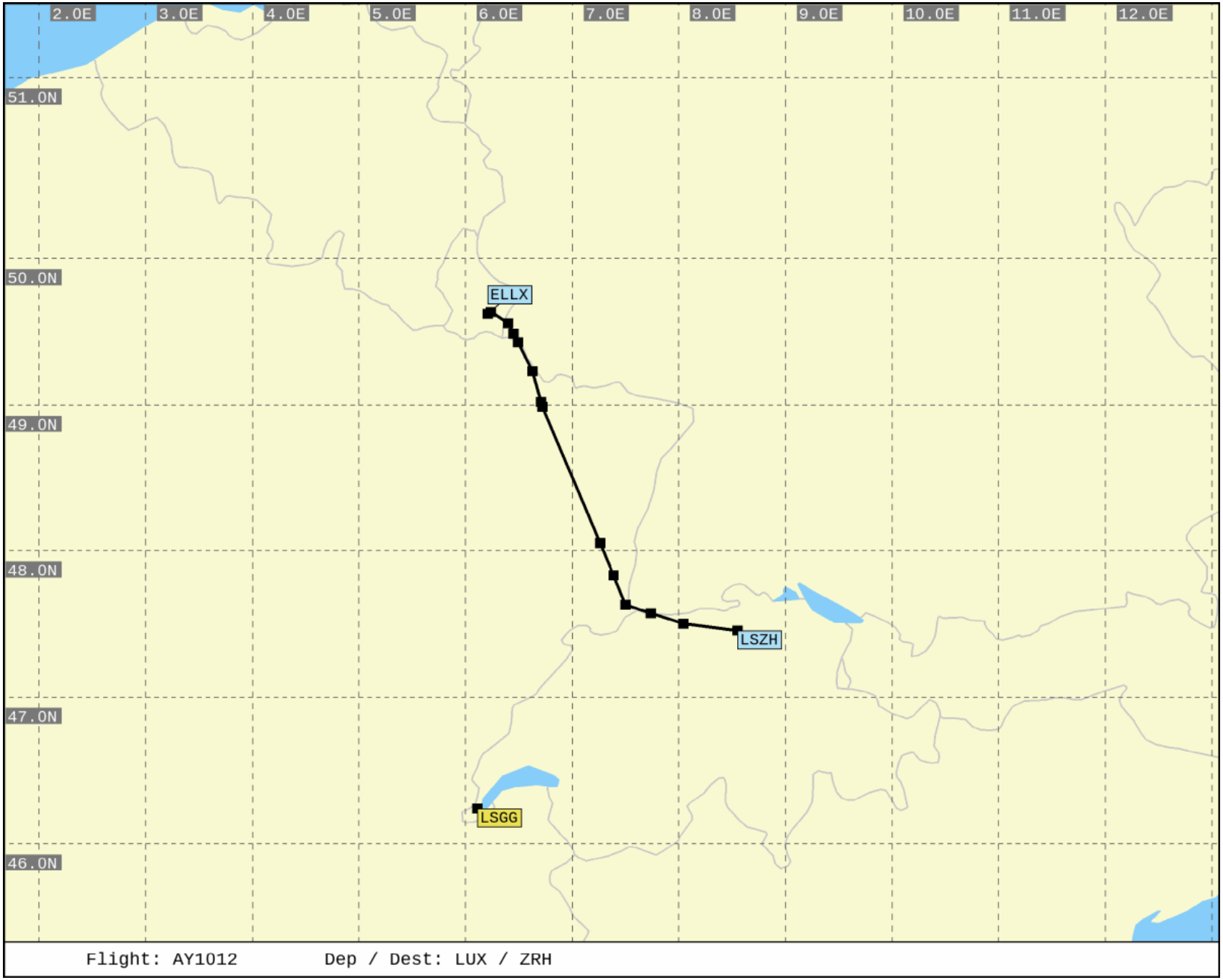
2.0E
3.0E
4.0E
5.0E
6.0E
7.0E
8.0E
9.0E
10.0E
11.0E
12.0E
51.0N
50.0N
49.0N
48.0N
47.0N
46.0N
ELLX
LSZH
LSGG
Flight: AY1012
Dep / Dest: LUX / ZRH

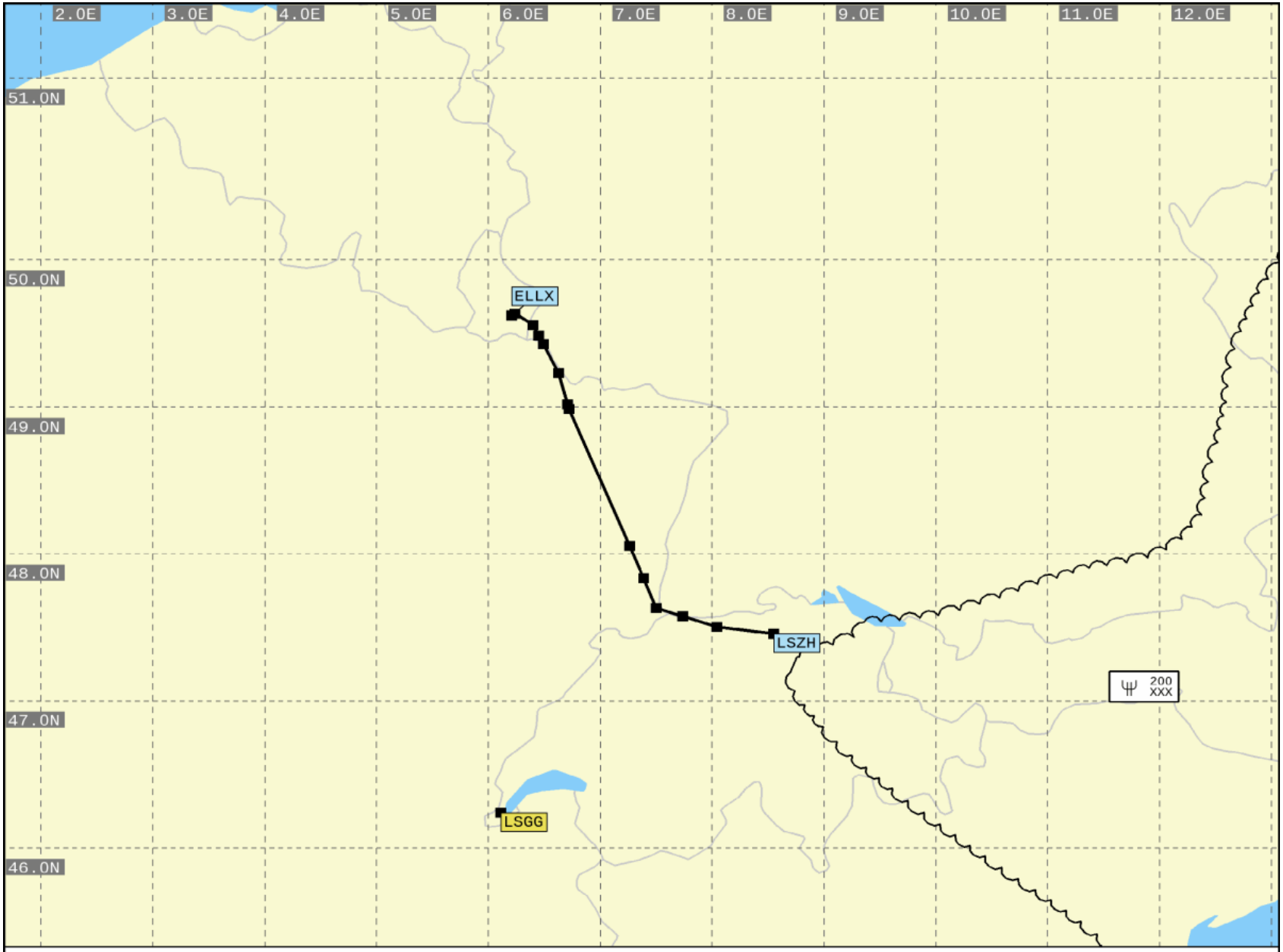

SIG WX FL 100-450 WASHINGTON
VALID 18 UTC ON 20.Apr.2026

Flight: AY1012 Dep / Dest: LUX / ZRH

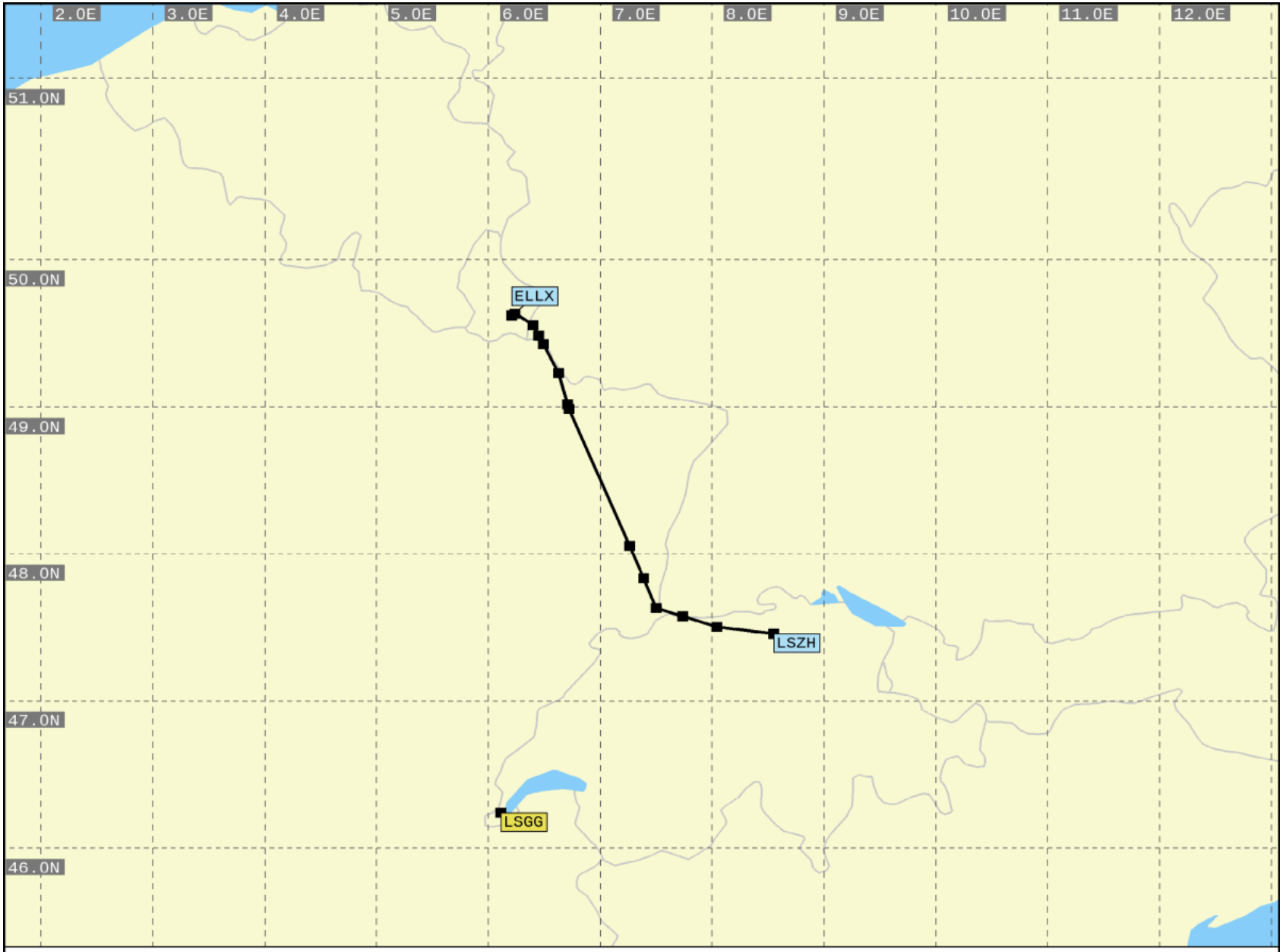

SIG WX FL 250-630 WASHINGTON
VALID 18 UTC ON 20.Apr.2026

Flight: AY1012 Dep / Dest: LUX / ZRH



UAD VALID 18 UTC ON 20.Apr.2026 06h FL 180

Flight: AY1012 Dep / Dest: LUX / ZRH



UAD VALID 18 UTC ON 20.Apr.2026 06h FL 240

Flight: AY1012 Dep / Dest: LUX / ZRH



UAD VALID 18 UTC ON 20.Apr.2026 06h FL 300

Flight: AY1012 Dep / Dest: LUX / ZRH



Profile VALID 18 UTC ON 20.Apr.2026 06h Average

Flight: AY1012 Dep / Dest: LUX / ZRH

End of Document: Total Number of Pages: 58