[OFP]

```
FIN1004   18MAR2026    ENGM-EIDW   A333 N339SB  RELEASE 1719 18MAR26
OFP 1            GARDERMOEN-DUBLIN INTL
                                   WX PROG 1818 1821   OBS 1812 1812

  ATC C/S   FIN1004      ENGM/OSL   EIDW/DUB      CRZ SYS      CI 27
18MAR2026   N339SB       1750/1810  2010/2018     GND DIST       761
A330-300 / TRENT 772                STA  2020     AIR DIST       847
                         CTOT:....                G/C DIST       697
                                                  AVG WIND   246/045
MAXIMUM    TOW 233000  LAW 187000  ZFW 175000     AVG W/C       M043
ESTIMATED  TOW 178975  LAW 168264  ZFW 161731     AVG ISA       M001
                                                  AVG FF KGS/HR 5347
                                                  FUEL BIAS    P00.0
ALTN EINN                                         TKOF ALTN     ENOL
FL STEPS ENGM/0400/
-----------------------------------------------------------------------
DISP RMKS   NIL

-----------------------------------------------------------------------
         PLANNED FUEL
----------------------------------
FUEL           ARPT   FUEL   TIME
----------------------------------
TRIP            DUB  10711   0200
CONT 15 MIN           1337   0015
ALTN            SNN   2984   0030
FINRES                2212   0030
----------------------------------
MINIMUM T/OFF FUEL   17244   0315
----------------------------------
EXTRA                    0   0000
----------------------------------
T/OFF FUEL           17244   0315
TAXI            OSL    544   0020
----------------------------------
BLOCK FUEL      OSL  17788
PIC EXTRA            .....
TOTAL FUEL           .....
REASON FOR PIC EXTRA ............
-----------------------------------------------------------------------
FMC INFO:
FINRES+ALTN           5196
TRIP+TAXI            11255
-----------------------------------------------------------------------
NO TANKERING RECOMMENDED (P)
-----------------------------------------------------------------------
I HEREWITH CONFIRM THAT I HAVE PERFORMED A THOROUGH SELF BRIEFING
ABOUT THE DESTINATION AND ALTERNATE AIRPORTS OF THIS FLIGHT
INCLUDING THE APPLICABLE INSTRUMENT APPROACH PROCEDURES, AIRPORT
FACILITIES, NOTAMS AND ALL OTHER RELEVANT PARTICULAR INFORMATION.

DISPATCHER: ANDRE LEE                    PIC NAME: GM, PAYAM

TEL: +1 800 555 0199                PIC SIGNATURE: ...............
```

```
ALTERNATE ROUTE TO:                                          FINRES   2212
APT      TRK DST              VIA                        FL  WC  TIME  FUEL
-----------------------------------------------------------------------
EINN/06  246 143  PELIG6A PELIG DCT ENOKU DCT    220 M020 0030  2984
                  DIGAN DIGAN2E
-----------------------------------------------------------------------

MEL/CDL ITEMS DESCRIPTION
------------- -----------

-----------------------------------------------------------------------

ROUTING:

ROUTE ID: DEFRTE
ENGM/19R ATLAP7D ATLAP DCT IPMOD DCT KLONN DCT TRN DCT BLACA DCT
NELBO DCT NIMAT NIMAT4L EIDW/28L

-----------------------------------------------------------------------
DEPARTURE ATC CLEARANCE:
.
.
.
-----------------------------------------------------------------------
                         OPERATIONAL IMPACTS
                         -------------------
WEIGHT CHANGE UP 1.0          TRIP  P 0073 KGS   TIME M 0000
WEIGHT CHANGE DN 1.0          TRIP  M 0018 KGS   TIME P 0000
FL CHANGE     UP FL1                 NOT AVAILABLE
FL CHANGE     DN FL1          TRIP  P 0074 KGS   TIME P 0001
FL CHANGE     DN FL2          TRIP  P 0470 KGS   TIME P 0005
SPD CHANGE    CI 0            TRIP  P 0123 KGS   TIME P 0000
SPD CHANGE    CI 300          TRIP  P 0550 KGS   TIME M 0001
-----------------------------------------------------------------------
```

```
-----------------------------------------------------------------------
ATIS:
.
.
--------- --------- --------- --------- --------- --------- --------
RVSM: ALT SYS  LEFT:             STBY:             RIGHT:

--------- --------- --------- --------- --------- --------- --------
-----------------------------------------------------------------------
                                TIMES
                                -----

               ESTIMATED        SKED              ACTUAL

OUT            1750Z/1850L      1750Z/1850L       ......Z

OFF            1810Z/1910L      1810Z/1910L       ......Z

ON             2010Z/2010L      2012Z/2012L       ......Z

IN             2018Z/2018L      2020Z/2020L       ......Z

BLOCK TIME     0228             0230              ......

-----------------------------------------------------------------------
                               WEIGHTS
                               -------

                EST      MAX     ACTUAL

PAX             330              ......

BAG/CARGO       8.2              ......

PAYLOAD        34.4              ......

ZFW           161.7    175.0     ......

FUEL           17.8     36.5     ......  POSS EXTRA 18.7

TOW           179.0    197.7  LDG......

STAB TRIM                        ......

LAW           168.3    187.0     ......

-----------------------------------------------------------------------
                       TERRAIN CLEARANCE CHECK
                       -----------------------
DD CHECK - TERRAIN CLEARANCE CHECK DISABLED

DP CHECK - TERRAIN CLEARANCE CHECK DISABLED
-----------------------------------------------------------------------
```

FLIGHT LOG

MOST CRITICAL MORA 08100 FEET AT ATLAP///MXSHR 04 AT TOC

AWY POSITION IDENT FREQ	LAT LONG	EET TTLT	ETO ATO	FL MORA DIS	IMT ITT RDIS	MN TAS GS	WIND COMP SHR	OAT TDV TRP	EFOB AFOB	PBRN ABRN
					223				17.2	0.5
GARDERMOEN	N6012.2		...	39	226		M024			
ENGM	E01105.0	0000	...		761	250			....	....
ATLAP7D				062	261	.42	274/034	02	16.4	1.3
GM442	N6008.5	0002	...	42	266		M024	M01		
GM442	E01057.2	0002	...	7	754	250		354	....	....
ATLAP7D				133	328	.58	253/043	M11	15.8	1.9
GM616	N6007.8	0003	...	44	333		M042	P01		
GM616	E01038.0	0005	...	10	744	326		354	....	....
ATLAP7D				168	281	.62	258/051	M18	15.5	2.3
GM619	N6014.3	0001	...	44	286		M016	P01		
GM619	E01031.4	0006	...	7	737	374		354	....	....
ATLAP7D				227	222	.70	256/061	M31	15.0	2.8
GM448	N6017.7	0003	...	46	226		M054	M01		
GM448	E01007.1	0009	...	13	724	376		356	....	....
ATLAP7D				271	238	.77	254/066	M42	14.5	3.2
ATLAP	N6008.8	0002	...	81	242		M059	M03		
ATLAP	E00948.0	0011	...	13	711	403		356	....	....
DCT				379	243	.80	243/062	M59	13.5	4.3
IPMOD	N5944.4	0007	...	72	246		M062	M02		
IPMOD	E00817.8	0018	...	51	660	394		356	....	....
DCT				400	244	.80	247/054	M58	13.1	4.7
T O C	N5936.8	0003	...	72	246	457	M054	M01		
	E00743.3	0021	...	19	641	403	4	356	....	....
DCT				400	235	.82	249/053	M58	11.1	6.7
KLONN	N5823.4	0024	...	36	236	467	M053	M01		
KLONN	E00249.7	0045	...	168	473	414	3	358	....	....
SCOTTISH FIR/UIR										
-EGPX	N5823.1	0000	...							
	E00249.9	0045	...	0	473					
DCT				400	208	.81	250/044	M58	7.6	10.2
TURNBERRY	N5518.8	0044	...	34	206	465	M043	M01		
TRN	W00447.0	0129	...	310	163	422	2	357	....	....
117.50										
LONDON FIR/UIR										
-EGTT	N5500.0	0002	...							
	W00503.5	0131	...	21	142					

```
AWY                                FL   IMT   MN    WIND  OAT  EFOB  PBRN
POSITION    LAT      EET ETO MORA  ITT  TAS    COMP  TDV
IDENT       LONG    TTLT ATO DIS  RDIS   GS     SHR  TRP  AFOB  ABRN
FREQ
-----------------------------------------------------------------------
DCT                               400   193  .81 250/033  M58   7.3  10.5
BLACA       N5453.0 0002 ...  26   192  462    M024  M01
BLACA      W00509.5 0133 ...   8   134  438       2  356  ....  ....

DCT                               400   195  .81 250/033  M58   7.1  10.7
T O D       N5442.2 0002 ...  20   191  461    M018  M01
           W00513.5 0135 ...  11   123  443       2  356  ....  ....

DCT                               358   207  .80 235/043  M59   7.1  10.7
NELBO       N5429.4 0002 ...  21   206         M032  M02
NELBO      W00518.2 0137 ...  13   110  424          361  ....  ....

SCOTTISH FIR/UIR
-EGPX       N5415.3 0002 ...
           W00530.0 0139 ...  15    95

DCT                               244   184  .73 227/042  M35   7.0  10.8
NIMAT       N5357.9 0004 ...  20   182         M039  M01
NIMAT      W00544.5 0143 ...  20    75  403          360  ....  ....

SHANNON FIR/UIR
-EISN       N5357.7 0000 ...
           W00544.6 0143 ...   0    75

NIMAT4L                           179   128  .64 222/037  M19   6.9  10.9
KERAV       N5337.7 0004 ...  20   126         M029  P02
KERAV      W00546.0 0147 ...  20    55  369          360  ....  ....

NIMAT4L                           159   150  .61 219/033  M15   6.9  10.9
KOGAX       N5334.3 0001 ...  20   148         P000  P02
KOGAX      W00538.2 0148 ...   6    49  385          360  ....  ....

NIMAT4L                           140   172  .59 205/020  M10   6.9  10.9
KUDOM       N5329.4 0001 ...  20   170         M011  P03
KUDOM      W00533.2 0149 ...   6    43  363          364  ....  ....

NIMAT4L                           120   194  .56 201/018  M06   6.9  10.9
DW814       N5323.8 0001 ...  20   192         M016  P03
DW814      W00531.7 0150 ...   6    37  346          364  ....  ....

NIMAT4L                           101   215  .54 191/017  M03   6.8  11.0
DW815       N5318.2 0001 ...  20   213         M017  P02
DW815      W00533.8 0151 ...   6    31  334          364  ....  ....

NIMAT4L                           085   315  .44 183/018   01   6.8  11.0
DW816       N5313.8 0001 ...  20   314         M016  P03
DW816      W00538.7 0152 ...   5    26  270          364  ....  ....

NIMAT4L                           055   290  .41 160/016   05   6.8  11.0
OBINU       N5320.0 0002 ...  23   288         P014  P01
OBINU      W00549.5 0154 ...   9    17  286          364  ....  ....
```

```
AWY                              FL   IMT   MN    WIND  OAT  EFOB  PBRN
POSITION    LAT      EET ETO MORA  ITT  TAS    COMP  TDV
IDENT       LONG    TTLT ATO DIS  RDIS   GS     SHR  TRP  AFOB  ABRN
FREQ
-----------------------------------------------------------------------
NIMAT4L                                                      6.5  11.3
DUBLIN INTL N5325.3 0006 ...
EIDW       W00616.2 0200 ...  17                           ....  ....
```

WIND INFORMATION

CLIMB	T O C	KLONN	TRN
350 246/080 -59	440 263/048 -55	440 257/040 -55	440 247/029 -56
310 252/075 -52	420 254/050 -56	420 254/046 -57	420 248/031 -57
200 254/057 -25	400 247/054 -58	400 252/051 -58	400 250/033 -58
150 257/047 -14	380 243/061 -59	380 250/057 -59	380 247/037 -59
100 251/041 -05	360 245/074 -59	360 247/064 -59	360 239/048 -59

BLACA	T O D	DESCENT
440 247/029 -56	440 247/029 -56	350 239/052 -59
420 249/031 -57	420 249/031 -57	310 221/040 -51
400 250/033 -58	400 250/033 -58	200 225/039 -25
380 247/037 -59	380 248/037 -59	150 220/032 -13
360 240/047 -59	360 240/047 -59	100 210/023 -04

[ATC Flight Plan]

```
-----------------------------------------------------------------------
                          ICAO FLIGHT PLAN
                          ----------------

FF ENORZQZX EGPXZQZX EGTTZQZX EISNZQZX
181719 CYULSBFP
(FPL-FIN1004-IS
-A333/H-SDE3GHIJ2J3J5M1RVWXY/LB2D1
-ENGM1750
-N0467F400 ATLAP7D ATLAP DCT IPMOD DCT KLONN DCT TRN DCT BLACA DCT
 NELBO DCT NIMAT NIMAT4L
-EIDW0150 EINN
-PBN/A1B1C1D1O1S2 DOF/260318 REG/N339SB EET/EGPX0045 EGTT0132
 EGPX0139 EISN0143 OPR/FIN PER/C TALT/ENOL RMK/TCAS)
```

[Additional Info]

D I S P A T C H B R I E F I N G I N F O AY1004 ENGM/EIDW

[Runway Analysis]

```
-----------------------------------------------------------------------

TAKEOFF AND LANDING REPORT FIN 1004 ENGM-EIDW 18MAR26
TLR-1 SEQ-166580315 18MAR26 1719Z
A/C N339SB  A330-300 TRENT 772  BEW/CG 127303/.....

/// TAKEOFF DATA ///

APT   PRWY  POAT PWIND  PQNH  PMRTW FLP MT V1 VR V2 PTOW MFPTW LIMIT
ENGM  19R   5.0  206M08 1022  2330  1   53 31 31 38 1790 1977  AFM

RMKS FLEX - SEL TEMP 53
     BLEEDS ON
     WET RUNWAY
     ENG A/I ON

---- ---- ------ ----- ------- --- --- --- --- --- -----------------
RWY  OAT  WIND   QNH   MRTW    FLP V1  VR  V2  PWR CONFIG/CONDITION

---------------------------- ACARS RUNWAYS --------------------------
RWY          ACARS  LENGTH PMTOW NOTES
01L                 11811  2330 ILS 110.30
01R                  9678  2258 ILS 111.95
19L                  9678  2330 ILS 110.55
19R                 11811  2330 ILS 111.30

------------- WET RWY - PTOW - CALM WIND - ENG A/I ON --------------
RWY          MTOW MT CONFIG                   FLP  V1  VR  V2  LIMIT
01L          2330 53 FLEX - BLEEDS ON           1 131 131 138  AFM
01R          2330 53 FLEX - BLEEDS ON           1 131 131 138  AFM
19L          2330 53 FLEX - BLEEDS ON           1 131 131 138  AFM
19R          2330 53 FLEX - BLEEDS ON           1 131 131 138  AFM

-------- WET RWY - PTOW PLUS 4000 - CALM WIND - ENG A/I ON ---------
RWY          MTOW MT CONFIG                   FLP  V1  VR  V2  LIMIT
01L          2330 53 FLEX - BLEEDS ON           1 133 133 140  AFM
01R          2330 53 FLEX - BLEEDS ON           1 133 133 140  AFM
19L          2330 53 FLEX - BLEEDS ON           1 133 133 140  AFM
19R          2330 53 FLEX - BLEEDS ON           1 133 133 140  AFM

------------- DRY RWY - PTOW - CALM WIND - ENG A/I ON --------------
RWY          MTOW MT CONFIG                   FLP  V1  VR  V2  LIMIT
01L          2330 53 FLEX - BLEEDS ON           1 131 131 138  AFM
01R          2330 53 FLEX - BLEEDS ON           1 131 131 138  AFM
19L          2330 53 FLEX - BLEEDS ON           1 131 131 138  AFM
19R          2330 53 FLEX - BLEEDS ON           1 131 131 138  AFM

-------- DRY RWY - PTOW PLUS 4000 - CALM WIND - ENG A/I ON ---------
RWY          MTOW MT CONFIG                   FLP  V1  VR  V2  LIMIT
01L          2330 53 FLEX - BLEEDS ON           1 133 133 140  AFM
01R          2330 53 FLEX - BLEEDS ON           1 133 133 140  AFM
19L          2330 53 FLEX - BLEEDS ON           1 133 133 140  AFM
19R          2330 53 FLEX - BLEEDS ON           1 133 133 140  AFM

/// LANDING DATA ///

APT   PRWY  POAT PWIND  PQNH  PMRLW FLP  PLDW  LIMIT
EIDW  28L   11.0 032M07 1022  1870  FULL 1683  AFM
```

```
RMKS WET RUNWAY

-------- ---- ------ ----- ------- --- ----- --- -------------------
RWY      OAT  WIND   QNH   MRLW    FLP VREF  PWR CONFIG/CONDITION

--------------------------- ACARS RUNWAYS --------------------------
RWY          ACARS  LENGTH PMRLW NOTES
10L                   9281  1870 ILS 109.55
10R                   8652  1870 ILS 108.90
16                    6798  1870 ILS 111.50
28L                   8652  1870 ILS 111.35
28R                   8723  1870 ILS 110.15
34                    6798  1870

------------- FLAPS FULL - PACKS ON - NO ENROUTE ICING -------------
DRY RWY / WET RWY
            10L             10R             16              28L
  OAT       9281 FT         8652 FT         6798 FT         8652 FT
   06       1870A/1870A     1870A/1870A     1870A/1870A     1870A/1870A
 / 11       1870A/1870A     1870A/1870A     1870A/1870A     1870A/1870A
   16       1870A/1870A     1870A/1870A     1870A/1870A     1870A/1870A
HW/10KT         0/    0         0/    0         0/    0         0/    0
TW/10KT         0/    0         0/    0         0/ -115         0/    0

            28R             34
  OAT       8723 FT         6798 FT
   06       1870A/1870A     1870A/1870A
 / 11       1870A/1870A     1870A/1870A
   16       1870A/1870A     1870A/1870A
HW/10KT         0/    0         0/    0
TW/10KT         0/    0         0/ -107

-------- LANDING DISTANCE - FLAPS FULL - MAX MANUAL BRAKING --------
                    ACTUAL            FACTORED
  LDW     VREF      DRY      WET      DRY      WET
  1660    128      3315     4184     4407     5406
  1680    129      3342     4218     4448     5456
/ 1700    130      3368     4252     4490     5506
  1720    131      3402     4293     4539     5565
  1740    132      3435     4336     4589     5624
HW/KT               -20      -25      -23      -29
TW/KT                60       76       89      108

END TAKEOFF AND LANDING REPORT FIN 1004 ENGM-EIDW 18MAR26
```

[Airport WX List]

```
-----------------------------------------------------------------------
ENGM --> EIDW    AY  1004 / 18MAR2026
LIDO/WEATHER SERVICE       DATE : 18Mar2026   TIME : 17:19 UTC

AIRMETs:
  No Wx data available

SIGMETs:
ENOR  POLARIS FIR
  WS  SIGMET U06 VALID 181400/181800 ENMI- ENOR POLARIS FIR
             SEV TURB FCST WI N6306 E00406 - N6352 E00452 - N6440
             E01324 - N6351 E01240 - N6329 E00718 - N6306 E00406
             FL180/320 MOV E 25KT NC=
  WS  SIGMET U07 VALID 181400/181800 ENMI- ENOR POLARIS FIR
             SEV TURB FCST WI N6217 E00000 - N6259 E00000 - N6312
             E00110 - N6305 E00335 - N6303 E00334 - N6217 E00000
             FL180/320 STNR WKN=
  WS  SIGMET M03 VALID 181600/181900 ENMI- ENOR POLARIS FIR
             SEV MTW FCST WI N6157 E00435 - N6245 E00613 - N6315
             E00819 - N6229 E01104 - N6200 E01101 - N6135 E00727 -
             N6157 E00435 SFC/FL200 STNR WKN=
  WS  SIGMET U08 VALID 181630/181930 ENMI- ENOR POLARIS FIR
             SEV TURB FCST WI N6320 E00801 - N6412 E00959 - N6459
             E01046 - N6459 E01221 - N6343 E01101 - N6306 E00850 -
             N6320 E00801 SFC/FL050 STNR WKN=

Tropical Cyclone SIGMETs:
  No Wx data available

Volcanic Ash SIGMETs:
  No Wx data available

Departure:
ENGM/OSL  GARDERMOEN
  SA  181650  21008KT 5000 BR OVC003 05/04 Q1022 TEMPO 4000 BR
  FT  181100  1812/1912 19012KT 7000 OVC002
              TEMPO 1812/1818 2000 -DZ BR BKN005
              BECMG 1818/1820 0500 FG VV001
              BECMG 1907/1909 35005KT 9999 NSW FEW005

Destination:
EIDW/DUB  DUBLIN INTL
  SA  181700  04008KT 010V120 9999 FEW010 SCT014 11/08 Q1022 NOSIG
  FT  181100  1812/1912 07007KT 9999 SCT005 BKN025
              PROB30 TEMPO 1812/1814 BKN005
              BECMG 1816/1818 03007KT
              TEMPO 1818/1901 3000 BR BKN005
              PROB30 TEMPO 1820/1824 0800 FG BKN002

Departure Alternate:
ENOL/OLA  ORLAND
  SA  181650  24036G51KT 9999 -SHRA FEW035TCU BKN046 10/03 Q1012
              TEMPO 25031G41KT SHRA
  FT  181100  1812/1912 23018KT 9999 FEW012TCU BKN030
              BECMG 1813/1815 24032KT
              TEMPO 1815/1820 25035G50KT
              TEMPO 1815/1912 SHRA BKN014TCU
              BECMG 1820/1823 27022G32KT
              BECMG 1903/1906 26015KT
```

```
Destination Alternates:
EINN/SNN  SHANNON INTL
  SA  181700  04014KT 9999 FEW018 BKN028 13/09 Q1020 NOSIG
  FT  181100  1812/1912 04010KT 9999 SCT015
              TEMPO 1812/1908 BKN012
              PROB40 TEMPO 1822/1908 3000 BR BKN006
              BECMG 1902/1904 VRB03KT


  AIRPORTLIST ENDED
```

[NOTAM]

LIDO-NOTAM-BULLETIN INCLUDES NOTAM, COMP NOTAM AND AIP-REGULATION
VALID: 2603181750 - 2603182348 STD(EOBT)+TRIP+ALTN+3HRS
FIN 1004 /18MAR OFP-NR: 1
ROUTE: ENGM - EIDW ALTN: EINN
N0467F400 ATLAP7D ATLAP DCT IPMOD DCT KLONN DCT TRN DCT BLACA DCT
NELBO DCT NIMAT NIMAT4L

==========
DEPARTURE AIRPORT - DETAILED INFO
==========

ENGM/OSL GARDERMOEN

++++++++++++++++++++++++++++ AIRPORT ++++++++++++++++++++++++++++++

A1697/26
ALL SLOT APPLICATIONS SHALL BE SUBMITTED TO AIRPORT COORDINATION
NORWAY. REMOVE PARA 2.4.2. REF **AD** 2 ENGM **AD** 2.20

++++++++++++++++++++++ APPROACH PROCEDURES ++++++++++++++++++++++

A1833/26
ILS RWY 01L DOWNGRADED TO **CAT** I
A1497/26
LPV MINIMA **SUSPENDED**. REF **AD** 2 ENGM 5-35 RNP Z **RWY 19R**

==========
DESTINATION AIRPORT - DETAILED INFO
==========

EIDW/DUB DUBLIN INTL

++++++++++++++++++++++++++++ AIRPORT ++++++++++++++++++++++++++++++

A1123/26 VALID: 18-MAR-26 2300 - 19-MAR-26 0530
TWY N1 CLSD
A1138/26 VALID: 18-MAR-26 2300 - 21-MAR-26 0400
DAILY 2300-0400
APRON **TWY** 3 **CLSD**
A1157/26 VALID: 18-MAR-26 2230 - 21-MAR-26 0430
DAILY 2230-0430
TWY T, TWY F1 AND **TWY** LINK 1 **CLSD**
REF AIP SUP 009/2025
REF AIP EIDW **AD** 2.24-2
A1133/26
DAILY 0700-0430
NO THROUGH TAXIING FROM **TWY A** TO **TWY F2**
REF AIP SUP 009/2025
A1126/26
DAILY 2300-0430
PORTION OF **TWY DS, TWY** C AND **TWY DN** FROM ABEAM STAND 107L TO
ABEAM STAND 109R **CLOSED**
A1169/26
RWY 10L STRAIGHT-IN INSTRUMENT APPROACH **ILS CAT** II
MINIMA **NOT AVAILABLE**
REF: EIDW **AD** 2.24-33.1

A1152/26
RWY 28L RNP INSTRUMENT APPROACH PROCEDURE LNAV/VNAV
OCA(H)MINIMA INCREASED DUE ERECTION OF A CRANE.
CAT A 570 (367)
CAT B 580 (377)
CAT C 600 (397)
REF EIDW 2.24-26.1
A1153/26
RWY 28R RNP INSTRUMENT APPROACH PROCEDURE LNAV/VNAV
OCA(H)MINIMA INCREASED DUE ERECTION OF A CRANE.
CAT A 560 (347)
CAT B 570 (357)
CAT C 600 (387)
CAT D 610 (397)
REF EIDW 2.24-29.1
A1154/26
RWY 10L ILS CAT I AND **CAT** II OR **LOC** INSTRUMENT APPROACH PROCEDURE
OCA(H) MINIMA INCREASED DUE ERECTION OF A CRANE.
ILS CAT I
CAT A 535 (300)
CAT B 545 (310)
CAT C 555 (320)
CAT D 565 (330)
ILS CAT II
CAT A 447 (212)
CAT B 463 (228)
CAT C 476 (241)
CAT D 490 (255)
REF EIDW 2.24-33.1
A1155/26
RWY 10R ILS CAT I AND **CAT** II OR **LOC** INSTRUMENT APPROACH PROCEDURE
OCA(H) MINIMA INCREASED DUE ERECTION OF A CRANE.
ILS CAT I
CAT A 401 (158)
CAT B 410 (167)
CAT C 420 (177)
CAT D 430 (187)
ILS CAT II
CAT A 307 (64)
CAT B 324 (81)
CAT C 337 (94)
CAT D 350 (107)
REF EIDW 2.24-36
N0033/26
OBST ERECTED, TEMPORARY MOBILE CRANES WITH MAXIMUM INFRINGEMENT
OF INNER HORIZONTAL SURFACE OF 23 METRES:
CRANE 1
PSN 532536.66N 0061442.87W
ELEV 443FT AMSL,
WITHIN A 50M RADIUS,
OBST LGTD
CRANE 2
PSN 532534.38N 0061438.76W,
ELEV 443FT AMSL,
WITHIN A 50M RADIUS,
OBST LGTD
A1084/26
APRON **TAXIWAY** 3 MAXIMUM WINGSPAN INCREASED FROM 36M TO 41.1M
REF: AIP EIDW **AD** 2.20 SECTION 1.4

A0151/26
RNP AND **ILS RWY 16** RDH INCORRECTLY PUBLISHED AS RDH 54 SHOULD
READ RDH 50/ILS RDH 50
REF: EIDW **AD** 2.24-38.1 AND EIDW **AD** 2.24-39.1
B0051/26
AUTOMATIC TERMINAL INFORMATION SERVICE (ATIS) DUBLIN
INFORMATION DEPARTURE FREQ 129.640MHZ **U/S**.
REF AIP EIDW **AD** 2.18 ATS COMMUNICATION FACILITIES
A4273/25
TWY E1 AND **TWY B2 CLSD**
REF AIP SUP 009/2025
B1138/15
HOLDING PROCEDURE CHANGED. RATE OF DESCENT IN HOLDING PATTERNS
AMENDED TO: A STANDARD RATE OF DESCENT OF 1000FT PER MIN IN
HOLDING PATTERNS WILL BE USED UNLESS OTHERWISE INSTRUCTED BY ATC.
PILOTS MUST ADVISE ATC IF UNABLE TO COMPLY WITH THE STANDARD RATE
OF DESCENT.
REF AIP EIDW **AD** 2.22 SECTION 8

++++++++++++++++++++++++++++ RUNWAY ++++++++++++++++++++++++++++

A4274/25
RWY 16/34 UNAVAILABLE FOR TAKE OFF AND LANDING
REF AIP SUP 009/2025

++++++++++++++++++++++ APPROACH PROCEDURES ++++++++++++++++++++++

A1199/26
INSTRUMENT APPROACH PROCEDURE RNP T **RWY 28L NOT AVAILABLE**.
REF AIP EIDW **AD** 2.24-46.1
A1170/26
VFR ROUTE TO EIWT
VFR ROUTE CONTINUES TO BE **AVAILABLE** FOR USE.
WST **DVOR/DME** CANNOT BE USED FOR NAVIGATION PURPOSES.
REF: AIP EIDW **AD** 2.24-44
A1115/26
VFR APPROACH PROCEDURE LAMBAY TRANSIT ROUTE **NOT AVAILABLE**
REF AIP EIDW **AD** 2.24-44
A0898/26
RWY 28L AND **RWY 10R VOR** INSTRUMENT APPROACH PROCEDURES
ARE **NOT AVAILABLE**
REF EIDW **AD** 2.24-28.1
REF EIDW **AD** 2.24-37.1
A0152/26
EIDW INSTRUMENT RNAV STANDARD ARRIVAL CHART EIDW **AD** 2.24-24 **RWY 16**
SHOULD READ LIPGO 3U INSTEAD OF LIPGO 6U.
A0099/26
INSTRUMENT APPROACH PROCEDURE RNP **RWY 10L NOT AVAILABLE**
REF EIDW **AD** 2.24-32
B1124/23
ILS GP RWY 16 HAS A RDH OF 50FT
REF AIP EIDW **AD** 2.19 REMARKS TABLE

++++++++++++++++++++++++++++++ STAR ++++++++++++++++++++++++++++++

A1196/26
STANDARAD ARRIVAL CHART (STAR)-INSTRUMENT RNAV **RWY** 10L/R -
ALTITUDE CONSTRAINTS AMENDED
BOYNE 3R: LEVEL RESTRICTION AT ASDER SHOULD READ AT OR BELOW FL080
AND SPEED LIMIT 220KTS
REF AIP EIDW **AD** 2.24-23.2

==========
DEPARTURE ALTERNATE AIRPORT - DETAILED INFO
==========

ENOL/OLA ORLAND

++++++++++++++++++++++++++++ AIRPORT ++++++++++++++++++++++++++++

A1343/26
ACFT STANDS M2 AND M3 ON MAIN APRON OPEN, M1 AND M4 **CLSD**

++++++++++++++++++++++++++++++ SID ++++++++++++++++++++++++++++++

A7801/25
CHANGE SEGMENTS NELSU-UNFUB AND UNFUB-NAXUT TRACK TO READ 359
DEG. UNFUB HLDG TRACK TO READ INBD 359 DEG - OUBD 179 DEG. REF **AD**
2 ENOL 4-12 DATED 12 JUN 2025

==========
DESTINATION ALTERNATE AIRPORT(S)
==========

EINN/SNN SHANNON INTL

++++++++++++++++++++++++++++ AIRPORT ++++++++++++++++++++++++++++

A4292/25
TAXIING RESTRICTION: REF: AIP EINN **AD** 2.20
EXCEPTION FOR BIL AND 2EXEL AIRCRAFT TO MAKE LEFT AND RIGHT TURNS
ON TO **TWY C** FROM **TWY D2**
B2276/25
AUTOMATIC TERMINAL INFORMATION SERVICE (ATIS) FREQUENCY 8.33KHZ
CHANNEL IS PUBLISHED INCORRECTLY AS 130.950MHZ ON THE FOLLOWING
CHARTS RELATED TO SHANNON AERODROME, SHOULD READ 130.955MHZ AS PER
EINN **AD** 2.18.
CHARTS AFFECTED:
EINN **AD** 2.24-1 AERODROME CHART
EINN **AD** 2.24-2 AERODROME PARKING/DOCKING CHART
EINN **AD** 2.24-15 VISUAL APPROACH CHART

++++++++++++++++++++++++++++++ SID ++++++++++++++++++++++++++++++

A1189/26
SID DIGAN3A
SID TOMTO3A **NOT AVAILABLE**
REF: AIP EINN **AD** 2.24-5.1

A0195/26
ALL SIDS **RWY 06/24 NOT AVAILABLE** FOR **CAT** D AIRCRAFT.
CAT D AIRCRAFT SHALL REQUEST AN OMNI DIRECTIONAL DEPARTURE INSTRUCTION FROM ATC AS PER EINN **AD** 2.22 PARA 6.2
REF RNAV STANDARD INSTRUMENT DEPARTURE **RWY 06 AD** 2.24-5
REF RNAV STANDARD INSTRUMENT DEPARTURE **RWY 24 AD** 2.24-6

==========
EXTENDED AREA AROUND DEPARTURE
==========

ENOR NORWAY FIR

++++++++++++++++++++++++++++ FIR/UIR ++++++++++++++++++++++++++++++

A1877/26
OBST LIGHT ON MAST PSN 6328N 01128E HGT 75FT, 900FT AMSL **U/S**
A1876/26
OBST LIGHT GRAVDAL BJERKREIM PSN 583331N 0055535E, HGT 1080FT AMSL **U/S**
A1793/26
OBST LGT GLEINEFJELLET PSN 605150N 0053625E **U/S**. HGT 789FT AMSL
A1738/26
LIGHT ON MAST BOTH SIDE OF SJONPOLLEN **U/S**. PSN 662022N 0132831E AND 662040N 0132757E, MAX HGT 525FT AMSL
A1565/26
OBST LIGHT ON WIND TURBINE IN TONSTAD WIND PARK PSN 583052N 0064821E **U/S**. HGT 657FT AGL
A1564/26
OBST LIGHTS ON TWO WIND TURBINES IN TONSTAD WIND PARK PSN 5834N 00645E **U/S**. HGT 657FT AGL
A1384/26
UNICOM/VFR COMMON FREQ FOR PILOT-TO-PILOT TFC INFORMATION IN UNCONTROLLED AIRSPACE WITHIN NORWAY CHANGED: FROM 123.500MHZ TO 123.065MHZ (8.33KHZ CH). EFFECTIVE 01 JAN 2026 0000. USE 123.065MHZ WHEN NO OTHER ATS, RMZ OR LOCAL SAFETY COM AERODROME CH IS ASSIGNED AND PUBLISHED. 123.500MHZ NOT AUTHORIZED FROM 01 JAN 2026
A1360/26
OBST LIGHT HYWIND TAMPEN, HY02 PSN 612115N 0021535E **U/S**, HGT 634FT AMSL
A0997/26
POWERSPAN MARKERS MISSING DUE **WIP** BTN FURENESET AND STOREHAMMAREN PSN 614918N 0054021E. HGT 361FT AGL
A0932/26
FARRIS APP HR OF SER: MON-FRI 0500-2130, SAT 0620-2030, SUN 0620-2245
A0249/26
OBST LGT IN SMOELA VINDPARK PSN 632509N 0075507E HGT 455FT AMSL **U/S**
A7108/25
AMEND BALDER CTA GEOMETRY TO READ 601656N 0020013E - 601500N 0042000E - 585348N 0044010E - 583313N 0045027E - 582535N 0042557E - 575608N 0015608E - 582546N 0012854E - 591722N 0014236E - 595346N 0020430E - (601656N 0020013E) REF AIP ENR 2.1

++++++++++++++++++++++++++++ WAYPOINT ++++++++++++++++++++++++++++

A1330/26
NDB OBA/OSEBERG A 353KHZ **U/S**

A1328/26
DME TRL/TROLL CH108X **U/S** DUE MAINT
A0907/26
ADD SIGNIFICANT POINTS IHUSA, POS 674517.00N0142613.00E, RMK FRA(I), TO AIP ENR 4.4 PARA 1. REF AIP ENR 4.4 PARA 2 ENBO.
A0908/26
ADD SIGNIFICANT POINTS OXEMO, POS 675550.00N0142327.00E, RMK FRA(I), TO AIP ENR 4.4 PARA 1. REF AIP ENR 4.4 PARA 2 ENBO

++++++++++++++++++++++ RESTRICTED AIRSPACE ++++++++++++++++++++++

A1926/26 VALID: 18-MAR-26 2000 - 18-MAR-26 2200
MIL OPR AREA ENT139Z (J2Z) **ACTIVATED**. MIL ACTIVITY MAY OCCUR IN UNCONTROLLED AIRSPACE BELOW THE AREA
F) 5500FT AMSL G) FL500
A1930/26 VALID: 18-MAR-26 2000 - 18-MAR-26 2200
MIL OPR AREA ENT140Z (J3Z) **ACTIVATED**. MIL ACTIVITY MAY OCCUR IN UNCONTROLLED AIRSPACE BELOW THE AREA
F) FL095 G) FL500
A1931/26 VALID: 18-MAR-26 2000 - 18-MAR-26 2200
MIL OPR AREA ENT154Z (K1Z) **ACTIVATED** FOR MIL ACTIVITY. MIL ACTIVITY MAY OCCOUR IN UNCONTROLLED AIRSPACE BELOW THE AREA
F) FL115 G) FL500
A1934/26 VALID: 18-MAR-26 2000 - 18-MAR-26 2200
MIL OPR AREA ENT141Z (J4Z) **ACTIVATED**. MIL ACTIVITY MAY OCCUR IN UNCONTROLLED AIRSPACE BELOW THE AREA.
F) FL095 G) FL500
A1933/26 VALID: 18-MAR-26 2000 - 18-MAR-26 2200
MIL OPR AREA ENT155Z (K2Z) **ACTIVATED**. MIL ACTIVITY MAY OCCOUR IN UNCONTROLLED AIRSPACE BELOW THE AREA
F) FL135 G) FL500
A1936/26 VALID: 18-MAR-26 2000 - 18-MAR-26 2200
MIL OPR AREA ENT142Z (J7Z) **ACTIVATED**. MIL ACTIVITY MAY OCCUR IN UNCONTROLLED AIRSPACE BELOW THE AREA
F) 4500FT AMSL G) FL500
A1939/26 VALID: 18-MAR-26 2000 - 18-MAR-26 2200
MIL OPR AREA ENT143Z (J8Z) **ACTIVATED**. MIL ACTIVITY MAY OCCUR IN UNCONTROLLED AIRSPACE BELOW THE AREA
F) FL135 G) FL500
A1938/26 VALID: 18-MAR-26 2000 - 18-MAR-26 2200
MIL OPR AREA ENT158Z (K5Z) **ACTIVATED** FOR MIL ACTIVITY. MIL ACTIVITY MAY OCCOUR IN UNCONTROLLED AIRSPACE BELOW THE AREA
F) FL095 G) FL500
A1943/26 VALID: 18-MAR-26 2000 - 18-MAR-26 2200
MIL OPR AREA ENT156Z (K3Z) **ACTIVATED** FOR MIL ACTIVITY. MIL ACTIVITY MAY OCCUR IN UNCONTROLLED AIRSPACE BELOW THE AREA
F) FL115 G) FL500
A1942/26 VALID: 18-MAR-26 2000 - 18-MAR-26 2200
MIL OPR AREA ENT157Z (K4Z) **ACTIVATED** FOR MIL ACTIVITY. MIL ACTIVITY MAY OCCUR IN UNCONTROLLED AIRSPACE BELOW THE AREA
F) FL095 G) FL500
A1874/26
UNMANNED ACFT (VLOS) WILL TAKE PLACE AT SILJAN AREA PSN 591730N 0094751E - 591730N 0094805E - 591723N 0094807E - 591723N 0094751E - 591727N 0094746E - (591730N 0094751E). MAX HGT 400FT AGL. CTC +47 94184609
F) GND G) 800FT AMSL

A1743/26
DAILY 0730-1500
UNMANNED ACFT (VLOS/BLOS) WILL TAKE PLACE FOR POWER LINE INSPECTION IN TRYSIL AREA PSN 613128N 0123105E - 613716N 0120331E - 612355N 0113625E - 610355N 0115855E - 610326N 0123832E - 611811N 0123325E - 612155N 0124439E - (613128N 0123105E). MAX HGT 400FT AGL. CTC TEL +47 91318381
F) GND G) 2300FT AMSL

A1742/26
16 19 0700-1900, 20 0700-1430
MIL UNMANNED ACFT (BLOS/VLOS) WILL TAKE PLACE AT DOMBAAS AREA PSN: 620828N 0090917E - 620736N 0090540E - 620642N 0090444E - 620646N 0090025E - 620446N 0085914E - 620103N 0090054E - 620112N 0091126E - 620417N 0091138E - 620539N 0091302E - 620643N 0091043E - (620828N 0090917E). OPERATOR WILL MONITOR FREQ: 123.065 MHZ
F) GND G) 5000FT AMSL

A1799/26
DAILY 0700-1400
UNMANNED ACFT (BLOS) WILL TAKE PLACE FOR POWERLINE INSPECTION IN OSLO NORDMARKA PSN 600755N 0103609E - 600129N 0103118E - 595658N 0103726E - 595756N 0105016E - 600242N 0104948E - 600531N 0104535E - (600755N 0103609E) MAX HGT 400FT AGL. CTC 90673084 ESPEN ELVIA
F) GND G) 2034FT AMSL

A1800/26
DAILY 0700-1400
UNMANNED ACFT (BLOS) WILL TAKE PLACE FOR POWERLINE INSPECTION IN OSLO OSTMARKA PSN 595254N 0105254E - 595220N 0105026E - 594834N 0105101E - 594903N 0105652E - (595254N 0105254E) MAX HGT 400FT AGL. CTC 90673084 ESPEN ELVIA
F) GND G) 1050FT AMSL

A1715/26
13 16-20 0700-1500
UNMANNED ACFT (BLOS) WILL TAKE PLACE IN RAUMA- VESTNES AREA FOR POWERLINE INSPECTION PSN: 623738N 0071351E - 623732N 0072132E - 624031N 0073026E - 624304N 0074350E - 623402N 0080244E - 622952N 0075834E - 621939N 0081135E - 621418N 0080259E - 622317N 0075441E - 622550N 0072613E - (623738N 0071351E). MAX HGT 400FT AGL. CTC TEL +47 40416743
F) GND G) 1800FT AMSL

A0896/26
TEMPO **DANGER** AREA 'AAKSJOEN' **ACTIVATED** DUE UNMANNED ACFT (BLOS/VLOS) PSN: 635833N 0115519E - 635957N 0114504E - 635432N 0114541E - 635429N 0115538E - (635822N 0115519E). REAL TIME ACTIVATION BY POLARIS ACC, 30 MIN NOTICE. OPERATOR WILL MONITOR FREQ 118.605 MHZ
F) GND G) 4000FT AMSL

A0897/26
TEMPO **DANGER** AREA 'GAULSTAD' **ACTIVATED** DUE UNMANNED ACFT (BLOS/VLOS) PSN 640400N 0120000E - 640635N 0122019E - 635725N 0121605E - 635638N 0115924E - (640400N 0120000E). REALTIME ACTIVATION BY POLARIS ACC, 30 MIN NOTICE. OPERATOR WILL MONITOR FREQ 123.065MHZ
F) GND G) 5000FT AMSL

A0902/26
DANGER AREA EN D365 'GISKAAS' **ACTIVATED** DUE UNMANNED ACFT (BLOS/VLOS)
OPERATOR WILL MONITOR FREQ: 118.555 MHZ.REALTIME ACTIVATION BY POLARIS ACC 30 MIN PRIOR
F) GND G) 6000FT AMSL

A1623/26
DAILY 0600-1600
UNMANNED ACFT (BLOS) WILL TAKE PLACE IN SKJELINGAVATNET AREA PSN 605400N 0063000E - 605900N 0063400E - 610000N 0063000E - 605700N 0062300E - 605500N 0062200E - (605400N 0063000E), MAX HGT 400FT AGL. CTC TEL +47 97619357
F) GND G) 4900FT AMSL

A1661/26
TEMPO RESTRICED AREA ENR466 CORE26 EAST **ACTIVATED** PSN 683212N 0180734E - 690008N 0182218E - 685500N 0190500E - 690500N 0191500E - 691027N 0183108E - 692715N 0184204E - 692615N 0190300E - 695400N 0193000E - 695555N 0190819E - 702240N 0193448E - 703031N 0202538E - 702203N 0205338E - 701357N 0212102E - 700500N 0215036E - 694730N 0221142E - 694605N 0211058E - 700030N 0212400E - 700230N 0205400E - 695000N 0204400E - 694531N 0205017E - 694455N 0203000E - 694359N 0200000E - 692700N 0200000E - 690937N 0192505E - 690300N 0200000E - 690244N 0200336E - ALONG THE BORDER BETWEEN NORWAY AND SWEDEN - (683212N 0180734E).
NO FLYING PERMITTED UNLESS APPROVED BY CAOC BD.
DETAILS **AVBL** IN AIP AIRAC SUP 08/2026
F) GND G) 4500FT AMSL

A1660/26
TEMPO RESTRICED AREA ENR 465 CORE26 NORTHEAST **ACTIVATED** PSN 694359N 0200000E - 694455N 0203000E - 694531N 0205017E - 694500N 0205100E - 694330N 0210000E - 694500N 0211000E - 694605N 0211058E - 694730N 0221142E - 694307N 0221653E - 692835N 0220955E - 692438N 0214040E - 692342N 0211606E - 692123N 0211242E - 691654N 0211043E - 690336N 0203255E - 690243N 0200335E - 690300N 0200000E - 690937N 0192505E - 692700N 0200000E - (694359N 0200000E. ALSO ALONG THE BORDER BETWEEN NORWAY AND FINLAND AND NORWAY AND SWEEDEN.
NO FLYING PERMITTED UNLESS APPROVED BY CAOC BD. DETAILS **AVBL** IN AIP AIRAC SUP 08/2026
F) GND G) 6500FT AMSL

A1653/26
TEMPO RESTRICED AREA ENR468 CORE26 SOUTH **ACTIVATED** PSN 675451N 0164417E - 680305N 0160301E - 681456N 0155044E - 682215N 0160859E - 682200N 0161500E - 682058N 0163656E - 682200N 0165000E - 682624N 0165611E - 682852N 0165611E - 683341N 0165000E - 684400N 0165000E - 692600N 0164000E - 693050N 0165353E - 692000N 0171000E - 690500N 0165800E - 685400N 0170000E - 683800N 0172800E - 683300N 0175100E - 683212N 0180734E - ALONG THE BORDER BETWEEN NORWAY AND SWEDEN - (675451N 0164417E)
NO FLYING PERMITTED UNLESS APPROVED BY CAOC BD.
DETAILS **AVBL** IN AIP AIRAC SUP 08/2026
F) GND G) 2500FT AMSL

A1645/26
TEMPO RESTRICED AREA ENR467 CORE26 WEST **ACTIVATED** PSN 701500N 0184500E - 694000N 0172000E - 693050N 0165353E - 692000N 0171000E - 690500N 0165800E - 685400N 0170000E - 683800N 0172800E - 683300N 0175100E - 683212N 0180734E - 690008N 0182218E - 690500N 0174000E - 691500N 0175300E - 691027N 0183108E - 692715N 0184204E - 692800N 0182600E - 695800N 0184400E - 695555N 0190819E - 702240N 0193448E - 701815N 0190648E - (701500N 0184500E). NO FLYING PERMITTED UNLESS APPROVED BY CAOC BD. DETAILS **AVBL** IN AIP AIRAC SUP 08/2026
F) GND G) 4500FT AMSL

A1193/26
10-20 0000-2359, 23-26 0000-2359
DANGER AREA END365 'GISKAAS' **ACTIVATED**
F) GND G) FL130

A1542/26
DAILY 1300-1600
MIL OPR AREA ENT123Z (G2Z) **ACTIVATED**. MIL ACTIVITY MAY OCCUR IN UNCONTROLLED AIRSPACE BELOW THE AREA.
F) FL130 G) FL520

A1543/26
DAILY 1300-1600
MIL OPR AREA ENT124Z (G4Z) **ACTIVATED**. MIL ACTIVITY MAY OCCUR IN UNCONTROLLED AIRSPACE BELOW THE AREA.
F) FL130 G) FL520

A1544/26
DAILY 1300-1600
MIL OPR AREA ENT125Z (G5Z) **ACTIVATED**. MIL ACTIVITY MAY OCCUR IN UNCONTROLLED AIRSPACE BELOW THE AREA.
F) FL130 G) FL520

A1546/26
DAILY 1300-1600
MIL OPR AREA ENT127Z (G7Z) **ACTIVATED**. MIL ACTIVITY MAY OCCUR IN UNCONTROLLED AIRSPACE BELOW THE AREA.
F) FL130 G) FL520

A1545/26
DAILY 1300-1600
MIL OPR AREA ENT126Z (G6Z) **ACTIVATED**. MIL ACTIVITY MAY OCCUR IN UNCONTROLLED AIRSPACE BELOW THE AREA.
F) FL130 G) FL520

A1547/26
DAILY 1300-1600
MIL OPR AREA ENT128Z (G8Z) **ACTIVATED**. MIL ACTIVITY MAY OCCUR IN UNCONTROLLED AIRSPACE BELOW THE AREA.
F) FL130 G) FL520

A1548/26
DAILY 1300-1600
MIL OPR AREA ENT710Z (A25Z) **ACTIVATED**. MIL ACTIVITY MAY OCCUR IN UNCONTROLLED AIRSPACE BELOW THE AREA.
F) FL130 G) FL520

A1549/26
DAILY 1300-1600
MIL OPR AREA ENT712Z (A27Z) **ACTIVATED**. MIL ACTIVITY MAY OCCUR IN UNCONTROLLED AIRSPACE BELOW THE AREA.
F) FL130 G) FL520

A1550/26
DAILY 1300-1600
MIL OPR AREA ENT713Z (A31Z) **ACTIVATED**. MIL ACTIVITY MAY OCCUR IN UNCONTROLLED AIRSPACE BELOW THE AREA.
F) FL130 G) FL520

A1552/26
DAILY 1300-1600
MIL OPR AREA ENT715Z (A33Z) **ACTIVATED**. MIL ACTIVITY MAY OCCUR IN UNCONTROLLED AIRSPACE BELOW THE AREA.
F) FL130 G) FL520

A1551/26
DAILY 1300-1600
MIL OPR AREA ENT714Z (A32Z) **ACTIVATED**. MIL ACTIVITY MAY OCCUR IN UNCONTROLLED AIRSPACE BELOW THE AREA.
F) FL130 G) FL520

A1553/26
DAILY 1300-1600
MIL OPR AREA ENT731Z (B31Z) **ACTIVATED**. MIL ACTIVITY MAY OCCUR IN UNCONTROLLED AIRSPACE BELOW THE AREA.
F) FL130 G) FL520

A1554/26
DAILY 1300-1600
MIL OPR AREA ENT716Z (A34Z) **ACTIVATED**. MIL ACTIVITY MAY OCCUR IN UNCONTROLLED AIRSPACE BELOW THE AREA.
F) FL130 G) FL520

A1555/26
DAILY 1300-1600
MIL OPR AREA ENT717Z (A35Z) **ACTIVATED**. MIL ACTIVITY MAY OCCUR IN UNCONTROLLED AIRSPACE BELOW THE AREA.
F) FL130 G) FL520

A1556/26
DAILY 1300-1600
MIL OPR AREA ENT732Z (B32Z) **ACTIVATED**. MIL ACTIVITY MAY OCCUR IN UNCONTROLLED AIRSPACE BELOW THE AREA.
F) FL130 G) FL520

A1331/26
DAILY 0700-1600
UNMANNED ACFT (BLOS) WILL TAKE PLACE IN GRASDALEN AREA PSN 615900N 0071800E, RADIUS 3NM, MAX HGT 400FT AGL. CTC TEL +47 97619357 F) GND G) 5000FT AMSL

A1344/26
MODEL ACFT ACTIVITY WILL TAKE PLACE AT UDDUVOLL MODEL AIRFIELD, PSN 631908N 0101623E, RADIUS 2NM, MAX HGT 2500FT AGL. CTC TEL +47 92843311
F) GND G) 2500FT AMSL

A0990/26
DANGER AREA EN D156 'HENGSVANN' **ACTIVATED**
F) GND G) 6000FT AMSL

A1231/26
MON-FRI 0700-1800
UNMANNED ACFT (BLOS) WILL TAKE PLACE BYNESET, PSN 632416N 0100719E,
RADIUS 1NM. MAX HGT 400 FT AGL. CTC TEL +47 97497815
F) GND G) 1500FT AMSL

A1228/26
TEMPO **DANGER** AREA 'DRAMMEN HAVN' **ACTIVATED** DUE UNMANNED ACFT PSN 594426N 0101436E - 594353N 0101437E - 594353N 0101345E - 594414N 0101250E - 594422N 0101250E - (594426N 0101436E). MAX HGT 400FT AGL. FOR REAL TIME STATUS CTC INOTEK AS TEL +47 40300999
F) GND G) 415FT AMSL

A1025/26
DAILY 0800-1400
UNMANNED ACFT (BLOS) WILL TAKE PLACE IN IN GROMSTULSKOGEN AREA PSN 5916N 00931E, RADIUS 1NM, MAX HGT 295FT AGL. CTC TEL +47 46944697
F) GND G) 781FT AMSL

A0471/26
TRIGGER NOTAM AIP AIRAC SUP 08/2026 WEF 19 FEB 2026.
MIL EXERCISE COLD RESPONSE 2026 IN THE PERIOD 05 MAR - 20 MAR.
EXERCISE AREAS INCLUDING FOUR NEW TEMPO RESTRICTED AREAS, EXERCISE SCHEDULE AND RESTRICTIONS.
FLIGHT PLANNING PROCEDURES AND GUIDELINES FOR NON-PARTICIPATING TRAFFIC.
FOR DETAILS SUP **AVBL** AT WWW.AVINOR.NO/AIS
F) GND G) UNL

A0515/26
ADD DESIGNATOR ENNPZ1 TO AIRSPACE GUBAV NPZ. REF AIP AIRAC SUP 08/2026 ATTACHMENT 3
F) FL125 G) FL520

A0983/26
UNMANNED ACFT (BLOS) WILL TAKE PLACE IN SILJAN AREA NEAR POWERLINES PSN 592045N 0093740E - 592140N 0094413E - 592015N 0095039E - 591618N 0095406E - 591147N 0094925E - 591616N 0094328E - (592045N 0093740E). MAX HGT 215FT AGL, CTC TEL +47 95012337
F) GND G) 2224FT AMSL

A0446/26
MON-SAT 0700-1400
UNMANNED ACFT (BLOS) WILL TAKE PLACE IN MANDALSKRYSSET - BLOERSTAD PSN 580428N 0073226E - 580618N 0072208E - 580427N 0071943E - 580346N 0072040E - 580440N 0072336E - 580337N 0072900E - 580330N 0073229E - (580428N 0073226E), MAX HGT 400FT AGL. CTC +47 47670519 F) GND G) 820FT AMSL

A0295/26
DAILY 0600-1800
TEMPO RESTRICTED AREA ESTABLISHED 'ENR138 LOMMEDALEN' PSN 595617N 0103009E - 595714N 0103109E - 595824N 0103122E - 595933N 0103047E - 600000N 0102957E - 595949N 0102655E - 595905N 0102634E - 595753N 0102646E - 595616N 0102852E - (595617N 0103009E). MAX HGT 500FT AGL/1520FT AMSL. ALL FLYING PROHIBITED EXC WITH APPROVAL FROM UMAR(AT)AIRDODGE.IO TEL +4740303078 OR FLYING UNDER THE TREATY OF OPEN SKIES. HOSP/SAR/POLICE/MIL EXEMPTED
F) GND G) 1520FT AMSL

A0046/26
DAILY 1000-1700
UNMANNED ACFT (VLOS/BLOS) WILL TAKE PLACE IN LANGANGEN - BREVIK AREA PSN 590239N 0093833E - 590619N 0093852E - 590733N 0094217E - 590527N 0094915E - 590506N 0094850E - 590651N 0094245E - 590546N 0094112E - 590240N 0094051E - (590239N 0093833E). MAX HGT 400FT AGL. CTC TEL (+47) 458 78 523
F) GND G) 1150FT AMSL

A0045/26
MON-FRI 0700-1800
UNMANNED ACFT (VLOS/BLOS) WILL TAKE PLACE IN FORNEBU AREA PSN 595333N 0103726E, RADIUS 0.2NM, MAX HGT 400FT AGL. CTC TEL (+47) 901 11 603
F) GND G) 440FT AMSL

A0010/26
DAILY 0600-1900
UNMANNED ACFT (BLOS) WILL TAKE PLACE IN NESVATNET AREA PSN 633931N 0110517E - 633903N 0110423E - 633849N 0110452E - 633919N 0110609E - (633931N 0110517E). MAX HGT 280FT AGL. CTC +47 47670519
F) GND G) 400FT AMSL

A8297/25
RESTRICTED AREA ENR123 CHEMRING NOBEL ESTABLISHED, PSN 594106N 0103158E - 594109N 0103219E - 594055N 0103256E - 594030N 0103339E - 594025N 0103307E - 594045N 0103210E - (594106N 0103158E). ALL FLYING PROHIBITED, INCLUDING UNMANNED ACFT.
HOSP/MIL/SAR/POLICE/FIRE EXEMPTED
F) GND G) 1500FT AMSL

==========
EXTENDED AREA AROUND DESTINATION
==========

EISN SHANNON FIR/UIR

++++++++++++++++++++++++++++ FIR/UIR ++++++++++++++++++++++++++++++

B0587/26
FANS CONTROLLER-PILOT DATA LINK COMMUNICATION
(CPDLC)AVAILABILITY/FUNCTIONALITY IN THE SHANNON UIR/SOTA/NOTA MAY
BE INTERMITTENT DURING THIS PERIOD
REF AIP GEN 3.4
N0037/26
OBST LIGHTS **U/S** ON MAST LOCATED AT DOONAGORE, DOOLIN, CO
CLARE.
POSITION:525936.3N 0092221.7W
MAXIMUM ELEVATION:828FT
HEIGHT:148FT
N0034/26
OBSTACLE LIGHT **U/S** ON CRANE OPERATING AT SANDYFORD BUSINESS PARK,
CO. DUBLIN
POSITION: 531644.188N 0061253.938W
CRANE HEIGHT: 314FT
RADIUS: 1NM
B0463/26
INFORMATION PUBLISHED IN AIRAC AMENDMENT NR 002 EFFECTIVE DATE 21
MAR 2024, IN THE FOLLWING SECTIONS:
GEN 1.5:
SUBSECTIONS 3.7.1.1.8 AND 5.1.4
GEN 3.4:
SECTION 3.5 SUBSECTION III AND SUBSECTION 3.9.3. ARE NOT YET IN
EFFECT.PLEASE REVERT TO PREVIOUSLY PUBLISHED INFORMATION.
B0462/26
INFORMATION PUBLISHED IN AIRAC AMENDMENT NR002 EFFECTIVE DATE 21
MAR 2024 IN THE FOLLOWING SECTIONS:
ENR 2.2:
SECTION 4: IDENTIFICATION OF NAT TRACK MESSAGES AND OCEANIC RCL
SUBMISSION PROCEDURES.
SUBSECTIONS 4.1, 4.2, 4.2.1 AND 4.3.
SUBSECTIONS 6.3, 6.4.1 AND 6.4.2.
SECTION 7: REQUEST FOR AMENDMENT TO RCL FOR AIRCRAFT TRANSITING
THE SHANNON FIR/UIR/NOTA AND SOTA.
SUBSECTIONS 9.5 AND 9.6.2.
SUBSECTIONS 10.4, 10.5.2 AND 10.9.
SUBSECTIONS 11.4 AND 11.5.2. ARE NOT YET IN EFFECT.
THE FOLLOWING SECTIONS THAT WERE REMOVED FROM ENR 2.2 ARE STILL
VALID:
SUBSECTIONS 4.2.2, 4.2.3, 4.2.4, 4.3.1, 4.4, 4.4.1, 4.4.2, 4.4.3,
4.5, 4.5.1, 4.5.2, 4.5.3, 4.5.4, 4.5.5, 4.6 AND 4.7.
PLEASE REVERT TO PREVIOUSLY PUBLISHED AIP INFORMATION ON THE
AIRNAV WEBSITE AT WWW.AIRNAV.IE
N0021/26
OBSTACLE LIGHT ON MET MAST AT LOUGH BANNOW BOG, DERRYNASKEA,
COUNTY LONGFORD, **OUT OF SERVICE**
POSN: 533802.44N 0075242.31W
HEIGHT: 328FT

N0020/26
OBSTACLE LIGHT ON MET MAST AT OWENINNY BOG, SHANVODINNAUN,
COUNTY MAYO **OUT OF SERVICE**, POSITION 540826.38N 0092822.11W,
ELEVATION 637FT/HEIGHT 328FT, RADIUS 1NM.
B0268/26
WESTMEATH, EISB, SNUG BEAG AIRFIELD ADDED
POSITION 533741.00N 0070040.00W
REF HAND AMENDMENTS TO AERONAUTICAL CHARTS ICAO 1:500,000 ED 12
AND 1:250,000 EAST ED 9
REF AIP GEN 3.2.8
B0267/26
LAOIS, EIBF, BENFIELD AIRFIELD ADDED
POSITION 530940.00N 0071650.00W
REF HAND AMENDMENTS TO AERONAUTICAL CHARTS ICAO 1:500,000 ED 12
AND 1:250.000 EAST ED 9
REF AIP GEN 3.2.8
B0258/26
MAYO, SHRANAKILLY, MET MAST DECOMMISSIONING AND REMOVING
POSITION 540832.96N 0093538.50W
HEIGHT 328FT/ELEVATION 653FT
REF HAND AMENDMENT AERONAUTICAL CHARTS ICAO 1:500,000 ED 12
AND 1:250,000 WEST ED 9
REF AIP GEN 3.2.8
REF AIP ENR 5.4
N0010/26
OBST LIGHTS **U/S** ON TURBINE 2 LOCATED AT HIBERNIAN WIND POWER,
CARNSORE WIND FARM, NETHERTOWN, CARNE, COUNTY WEXFORD.
T2 PSN 521036.36N 0062157.48W
MET MAST PSN 521038.64N 0062204.66W
HEIGHT 250FT/ELEVATION 278FT

++++++++++++++++++++++++++++ WAYPOINT ++++++++++++++++++++++++++++

B0439/26
SHANNON FIR/UIR/NOTA/SOTA:
REPORTING POINT NERTU IS **NOT AVAILABLE** FOR FLIGHTPLANNING
REF AIP ENR 4.4
B0209/26
VOR/DME BAL/BALDONNEL 115.8MHZ CH105X **OUT OF SERVICE**
REF AIP ENR 4.1-1 RADIO NAVIGATION AIDS/SYSTEMS

++++++++++++++++++++++ RESTRICTED AIRSPACE ++++++++++++++++++++++++

J0011/26
MON-FRI 1000-1700 EXC MAR 17 APR 06 MAY 04 JUN 01
FLIGHT RESTRICTION IN THE VICINITY OF COUNTY CLARE COASTLINE
A TEMPORARY RESTRICTION ON THE FLYING OF AIRCRAFT, AND ROCKETS AS DEFINED IN S.I. NO.25 OF 2023, SHALL APPLY IN THE TEMPORARY RESTRICTED AREA (TRA) CONTAINED WITHIN THE VOLUME OF AIRSPACE DEFINED BELOW:
LATERAL LIMITS, THE AIRSPACE CONTAINED WITHIN:
524452.36N 0093036.12W
524523.14N 0093418.47W
ARC RADIUS OF 5KM (2.7NM) CENTRED ON
524610.85N 0093003.76W
524827.40N 0093225.92W
524759.40N 0093144.97W
524759.50N 0092913.83W
524632.84N 0092836.10W
524558.69N 0092936.65W
524519.32N 0092949.34W
524452.36N 0093036.12W
VERTICAL LIMITS: SFC TO 500FT AMSL
POINT OF CONTACT DURING ACTIVATION: A-TECHSYN HEAD OF UAV OPERATIONS (+353 87 711 3209) OR PIC (+353 85 186 4544).
STATE AIRCRAFT, AIRCRAFT OF THE IRISH COASTGUARD SERVICE AND HEMS OPERATORS EMPLOYED ON AN OPERATIONAL MISSION SHALL BE EXEMPT FROM THE RESTRICTION.
F) SFC G) 500FT AMSL

J0012/26
MON-FRI 1000-1700 EXC MAR 17 APR 06 MAY 04 JUN 01
FLIGHT RESTRICTION IN THE VICINITY OF COUNTY CLARE COASTLINE
A TEMPORARY RESTRICTION ON THE FLYING OF AIRCRAFT, AND ROCKETS AS DEFINED IN S.I. NO.25 OF 2023, SHALL APPLY IN THE TEMPORARY RESTRICTED AREA (TRA) CONTAINED WITHIN THE VOLUME OF AIRSPACE DEFINED BELOW:
LATERAL LIMITS, THE AIRSPACE CONTAINED WITHIN:
524523.14N 0093418.47W
524839.19N 0095438.25W
ARC RADIUS OF 28KM (15.12NM) CENTRED ON
524610.85N 0093003.76W
525743.31N 0094606.50W
524827.40N 0093225.92W
ARC RADIUS OF 5KM (2.7NM) CENTRED ON
524610.85N 0093003.76W
524523.14N 0093418.47W
VERTICAL LIMITS: SFC TO 2500FT AMSL
POINT OF CONTACT DURING ACTIVATION: A-TECHSYN HEAD OF UAV OPERATIONS (+353 87 711 3209) OR PIC (+353 85 186 4544).
STATE AIRCRAFT, AIRCRAFT OF THE IRISH COASTGUARD SERVICE AND HEMS OPERATORS EMPLOYED ON AN OPERATIONAL MISSION SHALL BE EXEMPT FROM THE RESTRICTION.
F) SFC G) 2500FT AMSL

D0034/26
DANGER AREA EID6 KILWORTH, CO. CORK **ACTIVATED**
F) GND G) 8000FT AMSL

J0009/26
FLIGHT RESTRICTION IN THE VICINITY OF BANGOR ERRIS, COUNTY MAYO
A TEMPORARY RESTRICTION ON THE FLYING OF AIRCRAFT, INCLUDING
UNMANNED AIRCRAFT SYSTEMS (UAS) AS DEFINED IN S.I. NO. 24 OF 2023
AND COMMISSION IMPLEMENTING REGULATION (EU) 2019/947, AND ROCKETS
AS DEFINED IN S.I. NO. 25 OF 2023, SHALL APPLY IN THE TEMPORARY
RESTRICED AREA (TRA) CONTAINED WITHIN THE VOLUME OF AIRSPACE
DEFINED BELOW:
LATERAL LIMITS: A CIRCLE RADIUS OF 0.6NM CENTRED ON:
540733.1N 0094659.5W
POINT OF CONTACT DURING ACTIVATION
MR. ANDREI LUCA +31 685358986 OR BY EMAIL AT
A.LUCA(AT)KITEPOWER.NL MR. MARK DEVAS +353 83 842 2897 OR BY EMAIL
AT M.DEVAS(AT)KITEPOWER.NL
STATE AIRCRAFT, AIRCRAFT OF THE IRISH COASTGUARD SERVICE AND HEMS
OPERATORS EMPLOYED ON AN OPERATIONAL MISSION SHALL BE EXEMPT FROM
THE RESTRICTION.
F) SFC G) 3100FT AMSL

EXTENDED AREA AROUND DESTINATION ALTERNATE AIRPORT(S)

EISN SHANNON FIR/UIR

Please see section EXTENDED AREA AROUND DESTINATION

AREA ENROUTE DEPARTURE - DESTINATION

EGPX SCOTTISH FIR/UIR

++++++++++++++++++++++++++++ FIR/UIR ++++++++++++++++++++++++++++++

H1061/26
0800-2000
CIVIL AIRCRAFT NOTIFICATION PROCEDURE - UNDERSLUNG LOADS WILL
OPERATE LOW FLYING AREA 14 AND NIGHT SECTOR 1BW WI 2NM EITHER SIDE
OF TRACK AND 2NM RADIUS OF 575143N 0064908W - 575514N 0065120W -
580238N 0064252W (ARDHASAIG, WESTERN ISLES). MAX HEIGHT 500FT AGL.
ACFT MAY BE RESTRICTED IN ABILITY TO MANOEUVRE AND UNABLE TO
COMPLY WITH RAC. OPS CTC 01667 464404. 26/03/140/LFC
F) SFC G) 2200FT AMSL
H1005/26 VALID: 18-MAR-26 0800 - 18-MAR-26 1800
CIVIL AIRCRAFT NOTIFICATION PROCEDURE - UNDERSLUNG LOADS WILL
OPERATE LOW FLYING AREA 14 WI 2NM RADIUS OF PSN 575726N 0044658W
(LAIRG, HIGHLANDS). MAX HEIGHT 500FT AGL. ACFT MAY BE RESTRICTED
IN ABILITY TO MANOEUVRE AND UNABLE TO COMPLY WITH RAC OPS
CTC 07557 574508. 26/03/110/LFC
F) SFC G) 1700FT AMSL

H1012/26
0800-1800
CIVIL AIRCRAFT NOTIFICATION PROCEDURE - UNDERSLUNG LOADS WILL OPERATE LOW FLYING AREA 14 WI 2NM EITHER SIDE OF TRACK AND 2NM RADIUS OF PSN 574929N 0041247W AND 575055N 0041350W (STRUIE HILL,HIGHLANDS) MAX HEIGHT 500FT AGL. ACFT MAY BE RESTRICTED IN ABILITY TO MANOEUVRE AND UNABLE TO COMPLY WITH RAC. OPS CTC 07557 574508. 26/03/112/LFC
F) SFC G) 1900FT AMSL

H1060/26 VALID: 18-MAR-26 0800 - 18-MAR-26 2130
CIVIL AIRCRAFT NOTIFICATION PROCEDURE - UNDERSLUNG LOADS WILL OPERATE LOW FLYING AREA AREA 14 AND NIGHT SECTOR 1A WI 2NM EITHER SIDE OF TRACK AND 2NM RADIUS OF PSN 563626N 0054422W AND 563417N 0054206W (ACHARN, HIGHLANDS) MAX HEIGHT 500FT AGL. ACFT MAY BE RESTRICTED IN ABILITY TO MANOEUVRE AND UNABLE TO COMPLY WITH RAC. OPS CTC 01667 464404. 26/03/139/LFC
F) SFC G) 2200FT AMSL

H1006/26
0800-1800
CIVIL AIRCRAFT NOTIFICATION PROCEDURE - UNDERSLUNG LOADS WILL OPERATE LOW FLYING AREA 14 WI 2NM RADIUS OF PSN 573804N 0051039W (KINLOCHEWE, HIGHLAND). MAX HEIGHT 500FT AGL. ACFT MAY BE RESTRICTED IN ABILITY TO MANOEUVRE AND UNABLE TO COMPLY WITH RAC OPS
CTC 07557 574508. 26/03/111/LFC
F) SFC G) 2900FT AMSL

B0506/26
16-28 0800-1700, 29-31 0700-1600
SWANWICK MIL WEST WILL BE OPERATING A REDUCED ATS DUE STAFFING. CONSIDER CONTACTING THE WEST SUPERVISOR PRIOR TO SORTIE COMMENCING.

B0504/26
16-28 0800-1700, 29-31 0700-1600
SWANWICK (MIL) NORTH WILL BE OPERATING A REDUCED ATS DUE TO STAFFING. CONSIDER CONTACTING THE NORTH SUPERVISOR PRIOR TO THE SORTIE COMMENCING.

H1004/26
0800-1800
CIVIL AIRCRAFT NOTIFICATION PROCEDURE -
UNDERSLUNG LOADS WILL OPERATE LOW FLYING AREA 14 WI 2NM RADIUS OF PSN 562918N 0050804W (LOCH ETIVE, ARGYLL AND BUTE). MAX HEIGHT 500FT AGL. ACFT MAY BE RESTRICTED IN ABILITY TO MANOEUVRE AND UNABLE TO COMPLY WITH RAC OPS CTC 07557 574508.
26/03/109/LFC
F) SFC G) 2500FT AMSL

H0158/26
0800-1700
CIVIL AIRCRAFT NOTIFICATION PROCEDURE - UNDERSLUNG LOADS WILL OPERATE LOW FLYING AREA 14 AND NIGHT SECTOR 1A WI 2NM EITHER SIDE OF TRACK AND 2NM RADIUS OF PSN 562858N 0060842W (ULVA FERRY, ARGYLL AND BUTE) AND 562555N 0062026W (FINGAL'S CAVE, ARGYLL AND BUTE)
MAX HEIGHT 500FT AGL. ACFT MAY BE RESTRICTED IN ABILITY TO MANOEUVRE AND UNABLE TO COMPLY WITH RAC. OPS CTC 07557 574508.
26/01/034/LFC F) SFC G) 1900FT AMSL

++++++++++++++++++++++ RESTRICTED AIRSPACE ++++++++++++++++++++++

D1076/26
18-19 1700-0100
THE FOLLOWING **DANGER** AREAS ARE **ACTIVE**
EGD510A SPADEADAM
EGD510B SPADEADAM
F) SFC G) 5500FT AMSL

D1081/26 VALID: 18-MAR-26 1215 - 18-MAR-26 2200
DANGER AREA EGD703 TAIN DEACTIVATED
F) SFC G) 15000FT AMSL

H1102/26 VALID: 18-MAR-26 0840 - 18-MAR-26 1830
CIVIL AIRCRAFT NOTIFICATION PROCEDURE - MULTIPLE PARAGLIDERS OPR IN LOW FLYING AREA 14 WI 2NM RADIUS OF PSN 564827N 0034439W (CARN LIATH, PERTHSHIRE AND KINROSS). 2000FT AGL. CTC 07852 636379. 26/03/163/LFC
F) SFC G) 5600FT AMSL

D0862/26
DANGER AREA EGD505 MAGILLIGAN **ACTIVATED**
F) SFC G) 4000FT AMSL

H1041/26
0800-1800
UAS OPR BEYOND VISUAL LINE OF SIGHT (BVLOS) UTILISING VISUAL OBSERVERS (EXTENDED LINE OF SIGHT) ROUTING 575032N 0041911W - 575051N 0041946W - 575109N 0041944W - 575117N 0041951W - 575221N 0042228W - 575317N 0042306W - 575341N 0042230W - 575400N 0042132W (TAIN). MAX HGT 400FT AGL. FOR INFO 07872 138724 / 07828 792326. AR-2026-2017/02.
F) SFC G) 2600FT AMSL

H1042/26
0800-1800
UAS OPR BEYOND VISUAL LINE OF SIGHT (BVLOS) UTILISING VISUAL OBSERVERS (EXTENDED LINE OF SIGHT) ROUTING
574504N 0041745W
574519N 0041742W
574645N 0041555W
574747N 0041526W
(EASTER ROSS). MAX HGT 400FT AGL. FOR INFO 07872 138724/ 07828 792326. AR-2026-2014/02.
F) SFC G) 2500FT AMSL

H1066/26 VALID: 18-MAR-26 0619 - 18-MAR-26 1822
SR-SS
CIVIL AIRCRAFT NOTIFICATION PROCEDURE - MULTIPLE PARAGLIDERS OPERATING IN LOW FLYING AREA 16 WI 2NM RADIUS OF PSN 553119N 0030004W (WITCHIE KNOWE, SCOTTISH BORDERS). 2000FT AGL. CTC 07974 407709. 26/03/141/LFC
F) SFC G) 3800FT AMSL

H1067/26 VALID: 18-MAR-26 0600 - 18-MAR-26 1830
CIVIL AIRCRAFT NOTIFICATION PROCEDURE - MULTIPLE PARAGLIDERS OPERATING IN LOW FLYING AREA 16 AND 20T WI 2NM RADIUS OF PSN 553532N 0034232W (TINTO, SOUTH LANARKSHIRE). 2000FT AGL. CTC 07552604900. 26/03/142/LFC
F) SFC G) 4700FT AMSL

H1035/26
VENTING OF HIGH PRESSURE GAS WI 0.25NM RADIUS OF 553117N 0015510W (CHILLINGHAM). FOR INFO 07790 836920. AR-2026-1304/01.
F) SFC G) 2300FT AMSL

V0013/26
SECURITY - HAZARDOUS SITUATION IN AFGHANISTAN. UK REGISTERED AIR OPERATORS ARE ADVISED TO TAKE POTENTIAL RISK INTO ACCOUNT WITHIN FIR KABUL (OAKX). POTENTIAL RISK FROM HEIGHTENED MILITARY ACTIVITY. AR-2026-1616/01.
F) SFC G) UNL

H1064/26
1200-1600, 1900-2100
UAS OPR WI 10NM RADIUS OF 580600N 0055200W (OFFSHORE, THE MINCH). FOR INFO 07792 280770. AR-2026-2068/01.
F) SFC G) 400FT AMSL

H0483/26
1100-1300
MIL EXER. A FORMATION OF UP TO 4 MIL ACFT WILL OPR WITH IDENTIFICATION FRIEND OR FOE OFF WI AREA BOUNDED BY STRAIGHT LINES JOINING: 564600N 0021000W - 561500N 0004000E - 560600N 0010500E - 544500N 0000500E - 560000N 0020000W - 561000N 0023000W - 564600N 0021000W (NORTH SEA). ACFT MAY BE UNABLE TO COMPLY WITH RAC. FOR INFO 03033 727279. AR-2026-1026/01.
F) SFC G) 2000FT AMSL

H0980/26
1000-1330
EX COBRA WARRIOR 26-1. UP TO 60 MIL ACFT OPR IN MIXED FORMATIONS WI AREA BOUNDED BY 564944N 0023059W - 561522N 0003908E - 554828N 0020148E - 542337N 0012225E - 550310N 0010229W - 550419N 0010503W THENCE ANTI-CLOCKWISE BY THE ARC OF A CIRCLE RADIUS 21NM CENTRED ON 550217N 0014123W TO 551920N 0012007W - 551610N 0013433W - 551426N 0014100W - 551403N 0014229W - 552952N 0023047W - 553928N 0024212W - 560122N 0023945W - 561317N 0025226W - 563754N 0024601W - 564944N 0023059W (EGD514 COMBAT AIRSPACE, NORTH SEA). ACFT MAY BE UNABLE TO COMPLY WITH RAC. AIC Y012/2026 REFERS. FOR INFO 03033 727279. AR-2026-1898/01.
F) SFC G) UNL

D1035/26
0900-1700
THE FOLLOWING **DANGER** AREAS ARE DEACTIVATED
EGD510A SPADEADAM
EGD510B SPADEADAM
F) SFC G) 5500FT AMSL

D1034/26
0900-1700
DANGER AREA EGD510C SPADEADAM
NO SPECIAL USE AIRSPACE CROSSING SERVICE **AVAILABLE**
F) SFC G) 5500FT AMSL

H1013/26
MET BALLOON RELEASE/S WI 1NM RADIUS OF 601522N 0011733W (WEISDALE, SHETLAND) . THIS ACTIVITY WILL NOT BE WHOLLY CONTAINED WI LATERAL DIMENSION AS NOTIFIED. FOR INFO 00 1 40879 17858. AR-2026-781/01.
F) SFC G) UNL

H0791/26
0900-1700
UAS OPR WI 0.5NM RADIUS OF 572421N 0015226W (CHAPEL HILL). MAX HGT 700FT AGL. FOR INFO 077845 46062. AR-2026-1589/01.
F) SFC G) 1000FT AMSL

H0875/26
SR-SS
NEW MODEL AIRCRAFT FLYING SITE - MEIKLE WARTLE
LOCATION: 572146N 0022656W (WESTERTOWN)
VERTICAL LIMITS: SFC-1100FT AGL
HOURS: SR-SS
CONTACT: 07722 883203 OR 07704 171305
SITE ELEVATION: 420FT AMSL
UK AIP ENR 5.5 REFERS.
F) SFC G) 1520FT AMSL

J0483/26
TRIGGER NOTAM - AIP SUP 019/26 WEF 05 MAR 2026 UNTIL 05 JUN 2026.
TEMPORARY **DANGER** AREA (CENTRAL NORTH SEA) BVLOS OPERATIONS
F) SFC G) 1300FT AMSL

V0012/26
SECURITY - HAZARDOUS SITUATION IN LEBANON. UK REGISTERED AIR OPERATORS ARE RECOMMENDED NOT TO ENTER FIR BEIRUT (OLBB). POTENTIAL RISK FROM HEIGHTENED MILITARY ACTIVITY. FOR MORE INFO CONTACT UK DEPARTMENT FOR TRANSPORT 02070 826639 OR 02079 443111 OUT OF HOURS. AR-2025-7732/01.
F) SFC G) UNL

H0372/26
FEB 22-MAR 28 0830-1630, MAR 29-MAY 15 0730-1530
UAS OPR WI 0.3NM RADIUS OF 554330N 0045315W (MILLPORT, NORTH AYRSHIRE). MAX HGT 329FT AGL. FOR INFO 07886 930221 / 07746 824192. AR-2026-718/01.
F) SFC G) 500FT AMSL

V0009/26
SECURITY - HAZARDOUS SITUATION IN LIBYA
UK REGISTERED AIR OPERATORS ARE RECOMMENDED NOT TO ENTER FIR TRIPOLI (HLLL). POTENTIAL RISK FROM ANTI-AIRCRAFT WEAPONRY. THIS SUPERSEDES THE ADVICE IN THE CURRENT UK AIP.
UK AIP ENR 1.1. PARA 1.4.5 REFERS.
F) SFC G) UNL

B0254/26
THE FOLLOWING UAS RESTRICTED AREAS HAVE BEEN REMOVED FROM THE AIP WEF 19 FEBRUARY 2026
EGRU185 NSA BOSCOMBE DOWN
EGRU268 NSA BRIZE NORTON
EGRU354 NSA CONINGSBY
EGRU707 NSA KYLE OF LOCHALSH
EGRU708 NSA LOSSIEMOUTH
EGRU276 NSA MARHAM
EGRU280 NSA PONTRILAS
ERGU356 NSA WADDINGTON
UK AIP ENR 5.1 REFERS.
F) SFC G) 1000FT AMSL

V0005/26
SECURITY - HAZARDOUS SITUATION IN THE DEMOCRATIC REPUBLIC OF THE CONGO. UK REGISTERED AIR OPERATORS ARE RECOMMENDED NOT TO ENTER FIR KINSHASA (FZZA) WITHIN 200NM OF THE EASTERN BOUNDARY, BETWEEN THE 1ST PARALLEL NORTH AND THE 5TH PARALLEL SOUTH. POTENTIAL RISK FROM ANTI-AIRCRAFT WEAPONRY. AR-2025-3565/03.
UK AIP ENR 1.1 PARA 1.4.5 REFERS.
F) SFC G) UNL

H0340/26
SR MINUS30-SS PLUS30
CAPTIVE UNMANNED HELIUM BALLOON WI 1NM RADIUS OF 564949N 0042235W (LOCH ERICHT). MAX HGT 492FT AGL. FOR INFO 07710 701229. AR-2026-110/01.
F) SFC G) 2500FT AMSL

H0165/26
SR-SS
UAS OPR BEYOND VISUAL LINE OF SIGHT (BVLOS) UTILISING VISUAL OBSERVERS (EXTENDED LINE OF SIGHT) WI 1.4NM RADIUS OF 585608N 0031815W (GRAEMSAY). MAX HGT 263FT AGL. FOR INFO 07852 318946. AR-2026-245/01.
F) SFC G) 600FT AMSL

H0082/26
FEB 01-MAR 28 0900-2359, MAR 29-MAR 31 0800-2259
LIVE FIRING WI 1NM RADIUS OF 560538N 0044806W. (GARELOCHHEAD) HGT UP TO 750FT AGL. FOR INFO 01412 248135. AR-2026-131/01.
F) SFC G) 3000FT AMSL

H0080/26
JAN 17-MAR 28 0800-2000, MAR 29 0700-1900
FLYING OF LARGE MODEL ACFT WI 0.5NM RADIUS OF 554159N 0035550W (NETHERBURN). FOR INFO 07808 772189. AR-2026-130/01.
F) SFC G) 1800FT AMSL

H0113/26
JAN 16-MAR 28 0930-2100, MAR 29-APR 14 0830-2000
FLYING OF LARGE MODEL ACFT WI 0.4NM RADIUS OF 561033N 0030748W (COALTOWN OF BALGONIE, FIFE). FOR INFO 07801 270760. AR-2026-173/02.
F) SFC G) 1700FT AMSL

V0004/26
NATIONAL SECURITY / SAFETY - AFGHANISTAN. UK CIVIL AIR OPERATORS ARE STILL REQUIRED TO CONSIDER THE ICAO CONTINGENCY COORDINATION TEAM BULLETIN 14 DATED 06 OCT 2025 FOR FLIGHT PLANNING AND OPERATIONAL PURPOSES. FOR INFO CTC 02079 443111. AR-2026-368/02.
F) SFC G) UNL

H0116/26
KIRTON-IN-LINDSEY GLIDER SITE, LINCS PSN 532745N 0003436W SFC-2000FT AGL, SITE NO LONGER **ACTIVE**. UK AIP ENR 5.5, VFR CHARTS REFERS.
F) SFC G) 2203FT AMSL

H9535/25
JAN 01 - MAR 28 1000-1700, MAR 29 - 31 0900-1600
LIVE FIRING WI 0.25NM RADIUS OF 560936N 0032310W (1.25NM NW OF LOCH ORE). FOR INFO 07900 694044. AR-2025-5911/04.
F) SFC G) 1900FT AMSL

EGTT LONDON FIR/UIR

++++++++++++++++++++++++++++ FIR/UIR ++++++++++++++++++++++++++++++

H1047/26
0900-1745
CIVIL AIRCRAFT NOTIFICATION PROCEDURE - UNDERSLUNG LOADS WILL OPERATE LOW FLYING AREA 13 WI 2.5NM RADIUS OF PSN 544922N 0023014W, (NORTHUMBERLAND, NORTH EAST). MAX HEIGHT 250FT AGL. ACFT MAY BE RESTRICTED IN ABILITY TO MANOEUVRE AND UNABLE TO COMPLY WITH RAC OPS CTC 07754 957810. 26/03/130/LFC
F) SFC G) 2500FT AMSL

B0506/26
16-28 0800-1700, 29-31 0700-1600
SWANWICK MIL WEST WILL BE OPERATING A REDUCED ATS DUE STAFFING. CONSIDER CONTACTING THE WEST SUPERVISOR PRIOR TO SORTIE COMMENCING.

B0505/26
16-28 0800-1700, 29-31 0700-1600
SWANWICK (MIL) EAST WILL BE OPERATING A REDUCED ATS DUE STAFFING. CONSIDER CONTACTING THE EAST SUPERVISOR PRIOR TO SORTIE COMMENCING.

B0504/26
16-28 0800-1700, 29-31 0700-1600
SWANWICK (MIL) NORTH WILL BE OPERATING A REDUCED ATS DUE TO STAFFING. CONSIDER CONTACTING THE NORTH SUPERVISOR PRIOR TO THE SORTIE COMMENCING.

H0916/26
16-19 0800-1700, 20 0800-1300
MULTIPLE FAST JET ACFT WILL OPR FIGHTER CTL TRAINING NON-SEGREGATED WI 4 AREAS BOUNDED BY:
AREA 1: 510118N 0043133W - 510100N 0055000W - 512100N 0054100W - 514000N 0051900W - 514700N 0045800W - 514600N 0043200W - 510118N 0043133W.
AREA 2: 510118N 0043133W - 502300N 0043200W - 502000N 0051100W - 504400N 0054100W - 510000N 0054800W - 510100N 0055000W - 510118N 0043133W.
AREA 3: 510118N 0043133W - 514600N 0043200W - 513600N 0034300W - 510100N 0033700W - 510118N 0043133W.
AREA 4: 510118N 0043133W - 510100N 0033700W - 502700N 0034300W - 502300N 0043200W - 510118N 0043133W
FOR INFO 01935 452335. AR-2026-1819/01.
F) FL100 G) FL300

B0495/26
MARHAM LOWER AIRSPACE RADAR SERVICE OPERATING HOURS
16 MAR 0930-1730
17 MAR 0800-1730
18 MAR 0800-1730
19 MAR 0800-1730
20 MAR 0800-1700

B0394/26
WESTERN RADAR ADMIN PHONE NUMBER CHANGED TO 01489-445560.
UK AIP ENR 1.6.4.2.1 RERERS.

B0395/26
FEB 27 0730-1200, MAR 06 20 27 0730-1200, MAR 13 0730-1700
WARTON LOWER AIRSPACE RADAR SERVICE **NOT AVBL**

B0327/26
YEOVILTON LOWER AIRSPACE RADAR SERVICE
AMENDED HOURS OF OPERATION
MON-THU 1000-1600
FRI 0900-1300

B0290/26
SAT SUN 0900-1700
BRIZE NORTON LOWER AIRSPACE RADAR SERVICE **NOT AVBL**

H0379/26
CHANGES TO HLS OPR WI 0.1NM RADIUS 524247N 0023053W (THE PRINCESS ROYAL HOSPITAL, WELLINGTON). PPR FOR ARRIVING HEL. NO APCH FROM THE NORTH DUE TO **WIP** IN THE VCY. APCH ON HDG 250/050 ONLY. FOR INFO 01952 641222 4229 / 01952 641222 4253. AR-2026-749/02.

B0185/26
PLYMOUTH MIL (EAST) LOWER AIRSPACE RADAR SERVICE (LARS)
FREQ 124.150MHZ CHANGED TO 8.33KHZ CHANNEL 124.155
UK AIP ENR 1.6, ENR 1.8, ENR 5.1, ENR 5.2, ENR 6 REFERS

++++++++++++++++++++++ RESTRICTED AIRSPACE ++++++++++++++++++++++

H1038/26 VALID: 18-MAR-26 1900 - 19-MAR-26 0700
UAS OPR BEYOND VISUAL LINE OF SIGHT (BVLOS) UTILISING VISUAL OBSERVERS (EXTENDED LINE OF SIGHT) WI 1NM RADIUS OF 525732N 0010823W (NOTTINGHAM). MAX HGT 400FT AGL. FOR INFO 07940 217158. AR-2026-2028/01.
F) SFC G) 900FT AMSL

D1083/26 VALID: 18-MAR-26 1615 - 18-MAR-26 2200
DANGER AREA EGD307 DONNA NOOK DEACTIVATED
F) SFC G) 20000FT AMSL

H0919/26
UAS OPR WI 0.5NM RADIUS OF 513621N 0000356W (TOTTENHAM). MAX HGT 394FT AGL. FOR INFO 07920 786990. AR-2026-1804/01.
F) SFC G) 500FT AMSL

H0990/26
1100-1330
EXER. MULTIPLE MIL FAST JETS WILL OPR AND CONDUCT HIGH ENERGY MANOEVRES WI 15NM RADIUS OF 540809N 0004734W (MALTON). ACFT MAY BE UNABLE TO COMPLY WITH RAC. FOR INFO 01343 811446. AR-2026-1971/01.
F) SFC G) FL100

H1002/26 VALID: 18-MAR-26 1100 - 18-MAR-26 2000
UAS SWARM OPR WI 0.1NM RADIUS OF 513403N 0023320W (TOCKINGTON). SWARM MADE UP OF 25 UAS. MAX HGT 132FT AGL. FOR INFO 07756 688617. AR-2026-1980/01.
F) SFC G) 400FT AMSL

D1015/26 VALID: 18-MAR-26 0900 - 18-MAR-26 1800
THE FOLLOWING LLANBEDR **DANGER** AREAS ARE **ACTIVATED**:
EGD217A 0900-1800 SFC-2000FT AMSL
EGD217G 0900-1800 2000FT-6000FT AMSL
EGD217B 0900-1800 SFC-2000FT AMSL
EGD217H 0900-1800 2000FT-6000FT AMSL
F) SFC G) 6000FT AMSL

H1095/26 VALID: 18-MAR-26 0705 - 18-MAR-26 1830
CIVIL AIRCRAFT NOTIFICATION PROCEDURE - MULTIPLE PARAGLIDERS OPR IN LOW FLYING AREA 17 WI 2NM RADIUS OF PSN 535401N 0023658W (PARLICK, LANCASHIRE). 2000FT AGL. CTC 07980 914843. 26/03/157/LFC
F) SFC G) 3900FT AMSL

H1096/26 VALID: 18-MAR-26 0705 - 18-MAR-26 1830
CIVIL AIRCRAFT NOTIFICATION PROCEDURE - MULTIPLE PARAGLIDERS OPR IN LOW FLYING AREA 7 WI 2NM RADIUS OF PSN 515124N 0025827W (SKIRRID FAWR, MONMOUTHSHIRE) 2000FT AGL. CTC 07940 413654. 26/03/158/LFC F) SFC G) 3700FT AMSL

H1083/26 VALID: 18-MAR-26 0620 - 18-MAR-26 1822
SR-SS
CIVIL AIRCRAFT NOTIFICATION PROCEDURE - MULTIPLE PARAGLIDERS OPR IN LOW FLYING AREA 17 WI 2NM RADIUS OF PSN 543731N 0030435W (BLEASE FELL, CUMBRIA). 2000FT AGL. CTC 07962 402223. 26/03/147/LFC
F) SFC G) 4900FT AMSL

H1080/26 VALID: 18-MAR-26 0617 - 18-MAR-26 1820
SR-SS
CIVIL AIRCRAFT NOTIFICATION PROCEDURE - MULTIPLE PARAGLIDERS OPR IN LOW FLYING AREA 17 WI 2NM RADIUS OF PSN 541639N 0023002W (BARKIN FELL, CUMBRIA). 2000FT AGL. CTC 07841 785112. 26/03/146/LFBC
F) SFC G) 4100FT AMSL

H1097/26 VALID: 18-MAR-26 0615 - 18-MAR-26 1818
CIVIL AIRCRAFT NOTIFICATION PROCEDURE - MULTIPLE PARAGLIDERS OPR IN LOW FLYING AREA 7 WI 2NM RADIUS OF PSN 514027N 0030336W (CWMBRAN MOUNTAIN AIR, PONTYPOOL). 2000FT AGL. CTC 07575 280508. 26/03/159/LFC
F) SFC G) 3700FT AMSL

H1077/26 VALID: 18-MAR-26 0600 - 18-MAR-26 1830
CIVIL AIRCRAFT NOTIFICATION PROCEDURE - MULTIPLE PARAGLIDERS OPR IN LOW FLYING AREA 7 WI 2NM RADIUS OF PSN 530424N 0040110W (BLAENAU FFESTINIOG, GWYNEDD) . 2000FT AGL. CTC 07519 654959. 26/03/144/LFC F) SFC G) 5600FT AMSL

H1078/26 VALID: 18-MAR-26 0600 - 18-MAR-26 1830
CIVIL AIRCRAFT NOTIFICATION PROCEDURE - MULTIPLE PARAGLIDERS OPR IN LOW FLYING AREA 7 WI 2NM RADIUS OF PSN 530523N 0035952W (GLYDERAU, SNOWDONIA). 2000FT AGL. CTC 07519 654959. 26/03/145/LFC
F) SFC G) 5400FT AMSL

H1088/26 VALID: 18-MAR-26 0600 - 18-MAR-26 1830
CIVIL AIRCRAFT NOTIFICATION PROCEDURE - MULTIPLE PARAGLIDERS OPR IN LOW FLYING AREA 17 WI 2NM RADIUS OF PSN 541715N 0020828W (SEMERWATER, NORTH YORKSHIRE). 2000FT AGL. CTC 07725 666056. 26/03/150/LFC
F) SFC G) 4100FT AMSL

H1089/26 VALID: 18-MAR-26 0600 - 18-MAR-26 1830
CIVIL AIRCRAFT NOTIFICATION PROCEDURE - MULTIPLE PARAGLIDERS OPR IN LOW FLYING AREA 17 WI 2NM RADIUS PSN 544253N 0031335W (BEWALDETH, CUMBRIA). 2000FT AGL. CTC 07830 281986. 26/03/151/LFC
F) SFC G) 3600FT AMSL

H1091/26 VALID: 18-MAR-26 0600 - 18-MAR-26 1830
CIVIL AIRCRAFT NOTIFICATION PROCEDURE - MULTIPLE PARAGLIDERS OPR IN LOW FLYING AREA 8 WI 2NM RADIUS PSN 532054N 0015010W (LORDS SEAT,DERBYSHIRE). 2000FT AGL. CTC 07494 545835. 26/03/152/LFC
F) SFC G) 4100FT AMSL

H1090/26 VALID: 18-MAR-26 0600 - 18-MAR-26 1830
CIVIL AIRCRAFT NOTIFICATION PROCEDURE - MULTIPLE PARAGLIDERS OPR IN LOW FLYING AREA 17 WI 2NM RADIUS OF PSN 540625N 0020245W (KILNSEY, NORTH YORKSHIRE). 2000FT AGL. CTC 07717 696753. 26/03/153/LFC
F) SFC G) 3900FT AMSL

H1092/26 VALID: 18-MAR-26 0600 - 18-MAR-26 1830
CIVIL AIRCRAFT NOTIFICATION PROCEDURE - MULTIPLE PARAGLIDERS OPR IN LOW FLYING AREA 17 WI 2NM RADIUS PSN 542334N 0023810W (WHINFELL, CUMBRIA). 2000FT AGL. CTC 07879 414275. 26/03/154/LFC
F) SFC G) 3700FT AMSL

D0675/26
1730-2359
DANGER AREA EGD408 FELDOM **ACTIVATED**
F) SFC G) 3000FT AMSL

V0013/26
SECURITY - HAZARDOUS SITUATION IN AFGHANISTAN. UK REGISTERED AIR OPERATORS ARE ADVISED TO TAKE POTENTIAL RISK INTO ACCOUNT WITHIN FIR KABUL (OAKX). POTENTIAL RISK FROM HEIGHTENED MILITARY ACTIVITY. AR-2026-1616/01.
F) SFC G) UNL

H0236/26
1100-1300
EXER COBRA WARRIOR 26-1. UP TO 10 MIL ACFT, INCLUDING FAST JETS, WILL CONDUCT HIGH ENERGY MANOEVRES WI AREA BOUNDED BY: 542235N 0013157W - 541910N 0014342W - 541129N 0013630W - 535745N 0001916W - 541339N 0001133W (RAF LEEMING) . ACFT MAY BE UNABLE TO COMPLY WITH RAC. FOR INFO 03033 782679. AR-2026-429/01.
F) SFC G) FL245

H0483/26
1100-1300
MIL EXER. A FORMATION OF UP TO 4 MIL ACFT WILL OPR WITH IDENTIFICATION FRIEND OR FOE OFF WI AREA BOUNDED BY STRAIGHT LINES JOINING: 564600N 0021000W - 561500N 0004000E - 560600N 0010500E - 544500N 0000500E - 560000N 0020000W - 561000N 0023000W - 564600N 0021000W (NORTH SEA). ACFT MAY BE UNABLE TO COMPLY WITH RAC. FOR INFO 03033 727279. AR-2026-1026/01.
F) SFC G) 2000FT AMSL

H0980/26
1000-1330
EX COBRA WARRIOR 26-1. UP TO 60 MIL ACFT OPR IN MIXED FORMATIONS WI AREA BOUNDED BY 564944N 0023059W - 561522N 0003908E - 554828N 0020148E - 542337N 0012225E - 550310N 0010229W - 550419N 0010503W THENCE ANTI-CLOCKWISE BY THE ARC OF A CIRCLE RADIUS 21NM CENTRED ON 550217N 0014123W TO 551920N 0012007W - 551610N 0013433W - 551426N 0014100W - 551403N 0014229W - 552952N 0023047W - 553928N 0024212W - 560122N 0023945W - 561317N 0025226W - 563754N 0024601W - 564944N 0023059W (EGD514 COMBAT AIRSPACE, NORTH SEA). ACFT MAY BE UNABLE TO COMPLY WITH RAC. AIC Y012/2026 REFERS. FOR INFO 03033 727279. AR-2026-1898/01.
F) SFC G) UNL

H0983/26
0900-1500
UAS OPR WI AREA BOUNDED BY 543739N 0010850W - 543739N 0010842W - 543737N 0010831W - 543729N 0010837W - 543732N 0010852W - 543739N 0010850W (REDCAR, NORTH YORKSHIRE). MAX HGT 197FT AGL. FOR INFO 07739 256462. AR-2026-1949/01.
F) SFC G) 300FT AMSL

D1042/26
17-19 0830-2359, 20 0830-1730
DANGERS AREA EGD011C MERRIVALE **ACTIVATED**
F) SFC G) 10000FT AMSL

H0944/26
MAR 17-28 0800-2000, MAR 29-JUN 14 0700-1900
FLYING OF LARGE MODEL ACFT WI 0.55NM RADIUS OF 522203N 0012346W (WOLSTON). FOR INFO 075196 65738. AR-2026-1858/01.
F) SFC G) 1900FT AMSL

H1031/26
MAR 17 - 28 0800-2100, MAR 29 - JUN 12 0700-2000
FLYING OF LARGE MODEL ACFT WI 0.5NM RADIUS OF 520800N 0010843W (MORETON PINKNEY). FOR INFO 07746 169314 OR 07973 134141. AR-2026-2004/01.
F) SFC G) 2100FT AMSL

H0975/26
SR-SS
UAS OPR BEYOND VISUAL LINE OF SIGHT (BVLOS) WI AREA BOUNDED BY 532640N 0014701W - 532605N 0015104W - 532604N 0015202W - 532636N 0015110W - 532657N 0015113W - 532716N 0015119W - 532755N 0015110W - 532804N 0014856W - 532742N 0014705W - 532640N 0014701W (RIVER ALPORT). TYPICAL UAS OPR MAX HGT 50FT AGL. FOR INFO 07725 002795 / 07940 383535. AR-2026-1932/01.
F) SFC G) 2200FT AMSL

H1054/26
0600-2300
DROPPING OF ARTICLES WI 3NM RADIUS OF 525111N 0004648E (SCULTHORPE). FOR INFO 01638 545012. AR-2026-2045/01.
F) SFC G) 2300FT AMSL

H1056/26
E BAND HIGH INTENSITY RADIO TRANSMISSION AREA (HIRTA) IN LOW FLYING AREA 17 AND NIGHT SECTOR 3BE WI 1NM RADIUS OF PSN 542114N 0014704W, (BARDEN, NORTH YORKSHIRE) MAX HEIGHT 400FT AGL. 26/03/133/LFC
SAFE DISTANCES

CIVILIAN ACFT	0.3851NM	150FT AGL
MIL ACFT SUSCEPTIBILITY		
VERY LOW	0.3672NM	39FT AGL
LOW	0.3859NM	153FT AGL
MEDIUM	0.3967NM	219FT AGL
HIGH	0.4263NM	398FT AGL
PULSE LOW	0.3672NM	39FT AGL
PULSE MEDIUM	0.3672NM	39FT AGL
PULSE HIGH	0.3881NM	167FT AGL

F) SFC G) 1300FT AMSL

H1057/26
E BAND HIGH INTENSITY RADIO TRANSMISSION AREA (HIRTA) IN LOW FLYING AREA 11 AND NIGHT SECTOR 3A, 3BW AND 4BW WI 1NM RADIUS OF PSN 540253N 0011448W, (LINTON-ON-OUSE, NORTH YORKSHIRE). MAX HEIGHT 400FT AGL. 26/03/132/LFC
SAFE DISTANCES

CIVILIAN ACFT	0.0721NM	150FT AGL
MIL ACFT SUSCEPTIBILITY		
VERY LOW	0.0540NM	39FT AGL
LOW	0.0727NM	153FT AGL
MEDIUM	0.0835NM	219FT AGL
HIGH	0.1131NM	398FT AGL
PULSE LOW	0.0540NM	39FT AGL
PULSE MEDIUM	0.0540NM	39FT AGL
PULSE HIGH	0.0749NM	167FT AGL

F) SFC G) 500FT AMSL

H0941/26
1800-2200
ILLUMINANTS WI 0.54NM RADIUS OF 540918N 0013439W (SUTTON GRANGE). ILLUMINANTS WILL DESCEND BY PARACHUTE. FOR INFO 07783 505097 OR 07783 216227. AR-2026-1862/01.
F) SFC G) 1400FT AMSL

J0568/26
16 1315-2000, 17-20 0800-2000
TEMPO **DANGER** AREA (TDA) EGD188 INSTALLED WI 1.3NM RADIUS OF 512632N 0002409E (GRAVESEND, KENT). BEYOND VISUAL LINE OF SIGHT UAS OPERATIONS CONTAINED WHOLLY WI THE TDA. MAX HGT 400FT AGL. FOR INFO 07469 908009. AR-2025-7289/08.
F) SFC G) 700FT AMSL

D1053/26
MON WED 0900-1700, TUE THU 0900-2200, FRI 0900-1200
DANGER AREA EGD207 HOLBEACH DEACTIVATED DUE ESSENTIAL RANGE MAINT
F) SFC G) 23000FT AMSL

H0722/26
1000-2359
MIL EXER. UP TO 8 MIL ACFT WILL CONDUCT HIGH ENERGY MANOEVRES WI AREA BOUNDED BY STRAIGHT LINES JOINING
521149N 0005014E - 523900N 0015002E - 525500N 0015002E - 524006N 0023007E - 523656N 0025403E - 515215N 0021713E - 515223N 0012635E - 515858N 0012257E - 515919N 0004748E - 521149N 0005014E (OFF SHORE). ACFT MAY BE UNABLE TO COMPLY WITH RAC. FOR INFO 07867 143256. AR-2026-700/03.
F) SFC G) 2000FT AMSL

H0958/26 VALID: 16-MAR-26 0900 - 18-MAR-26 1800
0900-1800
DROPPING OF ARTICLES WI 1.5NM RADIUS OF 510706N 0002633W (RUDGWICK). FOR INFO 07956 868270. AR-2026-1409/01.
F) SFC G) 1000FT AMSL

H0985/26
0900-1400
MET BALLOON RELEASE/S WI 1NM RADIUS OF 530058N 0014431W (ASHBOURNE). THIS ACTIVITY WILL NOT BE WHOLLY CONTAINED WI LATERAL DIMENSION AS NOTIFIED. ASSOCIATED EQPT WILL SUBSEQUENTLY DESCEND BY PARACHUTE. FOR INFO 01142 131050. AR-2025-6626/24.
F) SFC G) UNL

H0986/26
0900-1400
MET BALLOON RELEASE/S WI 1NM RADIUS OF 525611N 0030519W (WREXHAM). THIS ACTIVITY WILL NOT BE WHOLLY CONTAINED WI LATERAL DIMENSION AS NOTIFIED. ASSOCIATED EQUIPMENT WILL SUBSEQUENTLY DESCEND BY PARACHUTE. FOR INFO 01142 131050. AR-2025-6624/22.
F) SFC G) UNL

H0987/26
0900-1400
MET BALLOON RELEASE/S WI 1NM RADIUS OF 532322N 0012610W (SHEFFIELD). THIS ACTIVITY WILL NOT BE WHOLLY CONTAINED WI LATERAL DIMENSION AS NOTIFIED. ASSOCIATED EQUIPMENT WILL SUBSEQUENTLY DESCEND BY PARACHUTE. FOR INFO 0114 213 1050. AR-2025-5247/28.
F) SFC G) UNL

H0988/26
0900-1400
MET BALLOON RELEASE/S WI 1NM RADIUS OF 532327N 0013910W (SHEFFIELD). THIS ACTIVITY WILL NOT BE WHOLLY CONTAINED WI LATERAL DIMENSION AS NOTIFIED. ASSOCIATED EQUIPMENT WILL SUBSEQUENTLY DESCEND BY PARACHUTE. FOR INFO 0114 213 1050. AR-2025-5249/26.
F) SFC G) UNL

H0640/26
0900-1645
UAS OPR WI AREA BOUNDED BY STRAIGHT LINES JOINING 511932N 0010353W - 511859N 0010241W - 511826N 0010245W - 511907N 0010354W - 511918N 0010354W - 511930N 0010354W - 511932N 0010353W (SHERFIELD ON LODDON). MAX HGT 400FT AGL. FOR INFO 07307 356200 / 07563 800818. AR-2026-1287/04.
F) SFC G) 700FT AMSL

H0793/26
MAR 16-28 0900-1800, MAR 29-JUN 08 0800-1700
FLYING OF LARGE MODEL ACFT WI 0.3NM RADIUS OF 511327N 0000111W (OXTED). FOR INFO 07966439835. AR-2026-1583/01.
F) SFC G) 1800FT AMSL

D1005/26
16-19 21-24 26 0830-1700
DANGER AREA EGD410 STRENSALL **ACTIVATED**
F) SFC G) 1000FT AMSL

D1041/26
16 0830-2359, 17-20 0830-1730
DANGER AREA EGD011B WILLSWORTHY **ACTIVATED**
F) SFC G) 4500FT AMSL

D0821/26
16-18 21 0830-1600
DANGER AREA EGD132 ASH RANGES **ACTIVATED**
F) SFC G) 850FT AMSL

J0528/26
0000-1900
TEMPO **DANGER** AREA (TDA) EGD098B **ACTIVATED** WI AN AREA BOUNDED BY 504703N 0005208E - 505315N 0010128E - 504948N 0011548E - 504139N 0011414E - 503926N 0010808E - 504703N 0005208E (ENGLISH CHANNEL). BEYOND VISUAL LINE OF SIGHT UAS OPS CONTAINED WHOLLY WI THE TDA. A SPECIAL USE AIRSPACE ACTIVITY INFORMATION SERVICE (SUAAIS) WILL BE **AVBL** FM EITHER LONDON INFO ON FREQ 124.600MHZ (OPR H24) OR FM LYDD ATC ON CH 120.705 LYDD APPROACH DURING THE HR OF WATCH. AIC Y 019/2026 REFERS. AR-2023-11556.
F) SFC G) 1500FT AMSL

J0531/26
0000-1900
TEMPO **DANGER** AREA (TDA) EGD098D **ACTIVATED** WI AN AREA BOUNDED BY 505315N 0010128E - 510149N 0011316E - 510635N 0012927E - 510336N 0013547E - 510227N 0013230E - 505659N 0012114E - 505345N 0011650E - 504948N 0011548E - 505315N 0010128E (ENGLISH CHANNEL). BEYOND VISUAL LINE OF SIGHT UAS OPS CONTAINED WHOLLY WI THE TDA. A SPECIAL USE AIRSPACE ACTIVITY INFORMATION SERVICE (SUAAIS) WILL BE **AVBL** FM EITHER LONDON INFO ON FREQ 124.600MHZ (OPR H24) OR FM LYDD ATC ON CH 120.705 LYDD APPROACH DURING THE HR OF WATCH. AIC Y 019/2026 REFERS. AR-2023-11556.
F) SFC G) 1500FT AMSL

J0530/26
0000-1900
TEMPO **DANGER** AREA (TDA) EGD098A **ACTIVATED** WI AN AREA BOUNDED BY 504815N 0004937E - 505359N 0005825E - 505315N 0010128E - 504703N 0005208E - 504815N 0004937E (ENGLISH CHANNEL). BEYOND VISUAL LINE OF SIGHT UAS OPS CONTAINED WHOLLY WI THE TDA. A SPECIAL USE AIRSPACE ACTIVITY INFORMATION SERVICE (SUAAIS) WILL BE **AVBL** FM EITHER LONDON INFO ON FREQ 124.600MHZ (OPR H24) OR FM LYDD ATC ON CH 120.705 LYDD APPROACH DURING THE HR OF WATCH. AIC Y 019/2026 REFERS. AR-2023-11556.
F) SFC G) 1500FT AMSL

J0529/26
0000-1900
TEMPO **DANGER** AREA (TDA) EGD098C **ACTIVATED** WI AN AREA BOUNDED BY 505359N 0005825E - 510326N 0011118E - 510756N 0012635E - 510635N 0012927E - 510149N 0011316E - 505315N 0010128E - 505359N 0005825E (ENGLISH CHANNEL). BEYOND VISUAL LINE OF SIGHT UAS OPS CONTAINED WHOLLY WI THE TDA. A SPECIAL USE AIRSPACE ACTIVITY INFORMATION SERVICE (SUAAIS) WILL BE **AVBL** FM EITHER LONDON INFO ON FREQ 124.600MHZ (OPR H24) OR FM LYDD ATC ON CH 120.705 LYDD APPROACH DURING THE HR OF WATCH. AIC Y 019/2026 REFERS. AR-2023-11556.
F) SFC G) 1500FT AMSL

J0532/26
0000-1900
TEMPO **DANGER** AREA (TDA) EGD098F ESTABLISHED WI AN AREA BOUNDED BY 510341N 0010445E - 510359N 0010700E - 510414N 0011100E - 510537N 0011311E - 510612N 0011652E THENCE THE ANTICLOCKWISE ARC OF A CIRCLE OF RADIUS OF 2.25 NM CENTRED ON 510800N 0011900E BETWEEN 510612N 0011652E - 510546N 0011912E - 510326N 0011118E - 505829N 0010432E - 510120N 0010148E - 510212N 0010531E - 510341N 0010445E(ENGLISH CHANNEL). BEYOND VISUAL LINE OF SIGHT UAS OPS CONTAINED WHOLLY WI THE TDA. A SPECIAL USE AIRSPACE ACTIVITY INFORMATION SERVICE (SUAAIS) WILL BE **AVBL** FM EITHER LONDON INFO ON FREQ 124.600MHZ (OPR H24) OR FM LYDD ATC ON CH 120.705 LYDD APPROACH DURING THE HR OF WATCH. AIC Y 019/2026 REFERS. AR-2023-11556.
F) SFC G) 800FT AMSL

J0533/26
0000-1900
TEMPO **DANGER** AREA (TDA) EGD098E **ACTIVATED** WI AN AREA BOUNDED BY 510756N 0012635E - 511454N 0013137E - 512251N 0013322E - 511740N 0015439E - 511447N 0020000E - 511153N 0015200E - 510607N 0014309E - 510336N 0013547E - 510756N 0012635E (ENGLISH CHANNEL).BEYOND VISUAL LINE OF SIGHT UAS OPS CONTAINED WHOLLY WI THE TDA. A SPECIAL USE AIRSPACE ACTIVITY INFORMATION SERVICE (SUAAIS) WILL BE **AVBL** FM EITHER LONDON INFO ON FREQ 124.600MHZ (OPR H24) OR FM LYDD ATC ON CH 120.705 LYDD APPROACH DURING THE HR OF WATCH. AIC Y 019/2026 REFERS. AR-2023-11556.
F) SFC G) 2500FT AMSL

J0534/26
0000-1900
TEMPO **DANGER** AREA (TDA) EGD098G **ACTIVATED** WI AN AREA BOUNDED BY 504118N 0002647E - 504815N 0004937E - 503926N 0010808E - 503300N 0005110E - 504118N 0002647E (ENGLISH CHANNEL). BEYOND VISUALLINE OF SIGHT UAS OPS CONTAINED WHOLLY WI THE TDA. A SPECIAL USE AIRSPACE ACTIVITY INFORMATION SERVICE (SUAAIS) WILL BE **AVBL** FM EITHER LONDON INFO ON FREQ 124.600MHZ (OPR H24) OR FM LYDD ATC ON CH 120.705 LYDD APPROACH DURING THE HR OF WATCH. AIC Y 019/2026 REFERS. AR-2023-11556.
F) SFC G) 2000FT AMSL

J0535/26
0000-1900
TEMPO **DANGER** AREA (TDA) EGD098H **ACTIVATED** WI AN AREA BOUNDED BY STRAIGHT LINES JOINING 510831N 0012227E - 510756N 0012635E - 510629N 0012136E THENCE THE ANTICLOCKWISE ARC OF A CIRCLE RADIUS OF 2.25NM CENTRED ON 510800N 0011900E BTN 510629N 0012136E - 510831N 0012227E (PORT OF DOVER). BEYOND VISUAL LINE OF SIGHT UAS OPS CONTAINED WHOLLY WI THE TDA. A SPECIAL USE AIRSPACE ACTIVITY INFORMATION SERVICE (SUAAIS) WILL BE **AVBL** FM EITHER LONDON INFO ON FREQ 124.600MHZ (OPR H24) OR FM LYDD ATC ON CH 120.705 LYDD APPROACH DURING THE HR OF WATCH. AIC Y 019/2026 REFERS. AR-2023-11556.
F) SFC G) 800FT AMSL

J0537/26
0000-1900
TEMPO **DANGER** AREA (TDA) EGD098L **ACTIVATED** WI AN AREA BOUNDED BY 510845N 0012007E - 510831N 0012227E THEN THE CLOCKWISE ARC OF A CIRCLE OF RADIUS 2.25NM CENTRED ON 510800N 0011900E TO 510629N 0012136E - 510751N 0012036E - 510757N 0012004E - 510845N 0012007E (PORT OF DOVER, ENGLISH CHANNEL). BEYOND VISUAL LINE OF SIGHT UAS OPS CONTAINED WHOLLY WI THE TDA. A SPECIAL USE AIRSPACE ACTIVITY INFORMATION SERVICE (SUAAIS) WILL BE **AVBL** FM EITHER LONDON INFO ON FREQ 124.600MHZ (OPR H24) OR FM LYDD ATC ON CH 120.705 LYDD APPROACH DURING THE HR OF WATCH. AIC Y 019/2026 REFERS. AR-2023-11556.
F) SFC G) 900FT AMSL

H0961/26
MAR 14 - MAR 28 0900-2100, MAR 29 - JUN 10 0800-2000
FLYING OF LARGE MODEL ACFT WI 0.5NM RADIUS OF 531742N 0033004W (GYPSY LANE). FOR INFO 07876 597863. AR-2026-1916/01.
F) SFC G) 1600FT AMSL

H0446/26
1000-2300
UAS SWARM OPR WI 0.1NM RADIUS OF 510925N 0023155W (EVERCREECH, SOMERSET). SWARM MADE UP OF 600 UAS. MAX HGT 400FT AGL. FOR INFO 07738 612566. AR-2026-943/01.
F) SFC G) 800FT AMSL

J0536/26
RESTRICTED AREA (TEMPORARY) INSTALLED FOR UAS ONLY (WHITFIELD)
WI AREA BOUNDED BY: 510856N 0011641E - 510907N 0011655E -
510912N 0011707E - 510910N 0011724E - 510904N 0011734E -
510855N 0011736E - 510852N 0011732E - 510845N 0011735E -
510838N 0011730E - 510831N 0011707E - 510831N 0011658E -
510842N 0011641E - 510849N 0011638E - 510856N 0011641E.
DOES NOT APPLY TO ANY UAS OPERATED BY OR ON BEHALF OF A POLICE AIR SUPPORT UNIT, AN EMERGENCY MEDICAL SERVICE, THE MARITIME AND COASTGUARD AGENCY OR ANY UAS FLYING IN ACCORDANCE WITH A PERMISION ISSUED BY BORDER FORCE CTC EMAIL: SECMANKENT(AT)HOMEOFFICE.GOV.UK.
RESTRICTION OF FLYING REGULATIONS MADE UNDER ARTICLE 239 OF THE AIR NAV ORDER 2016.
ON EXPIRY OF THIS NOTAM DETAILS WILL BE INCLUDED IN THE UK AIP ENR 5.1. AR-2025-9694/03.
F) SFC G) 1000FT AMSL

H0831/26
1830-2130
UAS SWARM OPR WI 0.1NM RADIUS OF 504650N 0004032W (BOGNOR REGIS).
SWARM MADE UP OF 60 UAS. MAX HGT 600FT AGL. FOR INFO 01243908031.
AR-2026-1653/01.
F) SFC G) 700FT AMSL

H0898/26
MAR 09 - 28 1000-2359, MAR 29 - JUN 06 0900-2259
UAS SWARM OPR WI 0.5NM RADIUS OF 522125N 0010447W (WINWICK). SWARM MADE UP OF 500 UAS. MAX HGT 600FT AGL. FOR INFO 07970 017256.
AR-2026-1769/01.
F) SFC G) 1200FT AMSL

H0902/26
MAR 09-28 0800-1700, MAR 29-31 0700-1600
UAS OPR WI AREA BOUNDED BY
545713N 0013324W - 545720N 0013146W - 545659N 0013039W -
545459N 0012943W - 545420N 0012932W - 545341N 0012945W -
545320N 0013002W - 545314N 0012943W - 545349N 0012842W -
545426N 0012703W - 545443N 0012618W - 545427N 0012550W -
545347N 0012652W - 545305N 0012817W - 545223N 0012919W -
545205N 0012943W - 545150N 0013006W - 545214N 0013109W -
545248N 0013022W - 545259N 0013057W - 545327N 0013103W -
545421N 0013044W - 545516N 0013059W - 545619N 0013131W -
545642N 0013203W - 545643N 0013324W - 545713N 0013324W
(PELAW TO PENSHAW). MAX HGT 361FT AGL.
FOR INFO 07301 528940 OR 01914 913444. AR-2026-1782/01.
F) SFC G) 900FT AMSL

H0850/26
MAR 06-28 1200-2300, MAR 29-APR 06 1100-2200
UAS SWARM OPR WI 1NM RADIUS OF 504109N 0011422W (DOWNEND). SWARM MADE UP OF 160 UAS. MAX HGT 601FT AGL. FOR INFO 07919 578177.
AR-2026-1700/01.
F) SFC G) 1100FT AMSL

H0879/26
UAS OPR BEYOND VISUAL LINE OF SIGHT (BVLOS) UTILISING VISUAL OBSERVERS (EXTENDED LINE OF SIGHT) WI 2NM RADIUS OF
515053N 0005735W (WESTCOTT). MAX HGT 400FT AGL. FOR INFO
07852 318946. AR-2026-1737/01.
F) SFC G) 1000FT AMSL

J0487/26
RESTRICTED AREA (TEMPORARY) INSTALLED FOR UAS ONLY (LEICESTER)
WI 0.5NM RADIUS OF PSN 523752N 0010519W PILOTS ARE FORBIDDEN TO
FLY UAS WI THE DESIGNATED AREA WITHOUT THE PERMISSION OF EMERGENCY
CONTROLLING AUTHORITY LEICESTERSHIRE POLICE SER CTC TEL 101
REFERENCE 221/09022026. RESTRICTION OF FLYING REGULATIONS MADE
UNDER ARTICLE 239 OF AIR NAV ORDER 2016. AR-2026-1021/03.
F) SFC G) 1000FT AMSL

H0669/26
MAR 05-MAR 28 0830-2000, MAR 29-JUN 02 0730-1900
FLYING OF LARGE MODEL ACFT WI 0.18NM RADIUS OF 523620N 0012748W
(SIBSON). FOR INFO 07916 536553. AR-2026-1398/02.
F) SFC G) 1500FT AMSL

J0483/26
TRIGGER NOTAM - AIP SUP 019/26 WEF 05 MAR 2026 UNTIL 05 JUN 2026.
TEMPORARY **DANGER** AREA (CENTRAL NORTH SEA) BVLOS OPERATIONS
F) SFC G) 1300FT AMSL

H0659/26
MAR 04-28 0800-2100, MAR 29-JUN 01 0700-2000
FLYING OF LARGE MODEL ACFT WI 1NM RADIUS OF 510718N 0021047W
(MONKTON DEVERILL). FOR INFO 07962 013388. AR-2026-1376/01.
F) SFC G) 2300FT AMSL

V0012/26
SECURITY - HAZARDOUS SITUATION IN LEBANON. UK REGISTERED AIR
OPERATORS ARE RECOMMENDED NOT TO ENTER FIR BEIRUT (OLBB).
POTENTIAL RISK FROM HEIGHTENED MILITARY ACTIVITY. FOR MORE INFO
CONTACT UK DEPARTMENT FOR TRANSPORT 02070 826639 OR 02079 443111
OUT OF HOURS. AR-2025-7732/01.
F) SFC G) UNL

J0312/26
TUE 0700-1600, WED-FRI 0700-1900, SAT 1400-2300
TEMPO **DANGER** AREA (TDA) EGD291A INSTALLED WI AREA BOUNDED BY
STRAIGHT LINES JOINING:
523704N 0010751W - 523704N 0010749W - 523647N 0010749W -
523550N 0010736W - 523550N 0010741W - 523645N 0010752W -
523649N 0010755W - 523702N 0010826W - 523710N 0010846W -
523712N 0010844W - 523653N 0010758W - 523649N 0010752W -
523704N 0010751W (KNIGHTON FIELDS, LEICESTER). BEYOND VISUAL LINE
OF SIGHT (BVLOS) UAS OPS WITHOUT VISUAL OBSERVERS CONTAINED WHOLLY
WI THE TDA. MAX HGT 200FT AGL. EMERG SERVICES ACFT MAY ENTER THE
AIRSPACE IN ACCORDANCE WITH LOCAL DECONFLICTION AGREEMENTS. FOR
INFO 07484 424457. AR-2025-9316/24.
F) SFC G) 500FT AMSL

H0712/26
SR-SS
FLYING OF LARGE MODEL ACFT WI 0.8NM RADIUS OF 503439N 0033202W
(ASHCOMBE). FOR INFO 07474 424630. AR-2026-1483/01.
F) SFC G) 2400FT AMSL

D0694/26
02-05 SS-SR, 06 SS-2359, 07 08 0001-2359, 09-13 SS-SR, 16-20 SS-SR
DANGER AREA EGD129 WESTON-ON-THE-GREEN **ACTIVATED**.
FOR INFO 07974 112143. AR-2026-1055/02.
F) SFC G) FL120

H0504/26
MAR 01-MAR 28 1800-0600, MAR 29-APR 30 1700-0500
FLARE FIRING WI 1NM RADIUS OF 513721N 0024544W (CAERWENT). FLARES
WILL DESCEND BY PARACHUTE. FOR INFO 01874 635599. AR-2026-1072/01.
F) SFC G) 1600FT AMSL

H0502/26
MAR 01-28 0900-1600, MAR 29-APR 30 0800-1500
LIVE FIRING WI 1NM RADIUS OF 513403N 0024526W (ROGIET MOOR SMALL ARMS RANGE). INCREASE TO AIR **DANGER** HEIGHT. FOR INFO 01874 635599. AR-2026-1069/01.
F) SFC G) 900FT AMSL

J0430/26
0800-1800
TEMPO **DANGER** AREA (TDA) EGD390A INSTALLED WI 1.61NM RADIUS OF 535647N 0010421W (CLEMENTHORPE, YORK). BEYOND VISUAL LINE OF SIGHT UAS OPERATIONS CONTAINED WHOLLY WITHIN THE TDA. MAX HGT 400FT AGL. EMERG SERVICES ACFT MAY ENTER THE AIRSPACE IN ACCORDANCE WITH LOCAL DECONFLICTION AGREEMENTS. FOR INFO AROPS(AT)CAA.CO.UK. AR-2026-1395/01.
F) SFC G) 600FT AMSL

H9685/25
0930-1500
FLYING OF LARGE MODEL ACFT WI 1NM RADIUS OF 521126N 0002448W (RAVENSDEN). FOR INFO 07876 200320. AR-2025-7571/02.
F) SFC G) 1300FT AMSL

H0040/26
THU 1530-1630
MODEL ROCKET FIRING WI 1NM RADIUS OF 512249N 0005327W (ARBORFIELD, WOKINGHAM). LAUNCH SUBJ ATC CLR. FOR INFO 07816 522388. AR-2026-13/02.
F) SFC G) 700FT AMSL

H0595/26
SR-SS
FLYING OF LARGE MODEL ACFT WI 1NM RADIUS OF 505833N 0010222W (CHIDDEN). FOR INFO 07739 347722. AR-2026-1267/01.
F) SFC G) 2300FT AMSL

B0392/26
DANGER AREA EGD218B FAIRFORD IS MISSING FROM THE FOLLOWING 1:250,000 VFR CHARTS:
SHEET 6 ENGLAND EAST - EDITION 17 EFFECTIVE 10 JUL 25
SHEET 5 CENTRAL ENGLAND AND WALES - EDITION 16 EFFECTIVE 07 AUG 25
FURTHER DETAILS ARE **AVBL** VIA ENR 5.1 AND ON THE NATS INTERNET BRIEFING SERVICE
1:250K VFR CHART AMENDMENT PAGE
F) FL050 G) FL240

H0691/26
SR-SS
UAS OPR WI 1NM RADIUS OF 510636N 0020223W (CHILMARK, WILTSHIRE). MAX HGT 1000FT AGL. OPERATING DAYLIGHT HOURS ONLY. FOR INFO OR SCHEDULE 07826 918598. AR-2026-1444/01.
F) SFC G) 1700FT AMSL

H0692/26
FEB 25-MAR 28 0700-2300, MAR 29-MAY 25 0600-2200
UAS OPR BEYOND VISUAL LINE OF SIGHT (BVLOS) UTILISING VISUAL OBSERVERS (EXTENDED LINE OF SIGHT) WI 1NM RADIUS OF 522408N 0001405W (WOOD WALTON, CAMBRIDGESHIRE). MAX HGT 400FT AGL. FOR INFO 07970 676628. AR-2026-1437/01.
F) SFC G) 600FT AMSL

H0492/26
FEB 23 - MAR 28 0700-2359, MAR 29 - MAY 22 0600-2259
UAS OPR WI 0.1NM RADIUS OF 512046N 0010830W (TADLEY). MAX HGT 300FT AGL. FOR INFO 07757 140487. AR-2026-1039/01.
F) SFC G) 700FT AMSL

H0529/26
FEB 22-MAR 28 0800-1800, MAR 29-MAY 22 0700-1700
UAS OPR BEYOND VISUAL LINE OF SIGHT (BVLOS) UTILISING VISUAL OBSERVERS (EXTENDED LINE OF SIGHT) WI AREA BOUNDED BY STRAIGHT LINES JOINING
514806N 0005056W - 514831N 0005000W - 514803N 0004932W - 514722N 0004825W - 514655N 0004725W - 514639N 0004625W - 514622N 0004532W - 514601N 0004508W - 514529N 0004420W - 514501N 0004340W - 514413N 0004301W - 514258N 0004137W - 514244N 0004121W - 514222N 0004213W - 514305N 0004242W - 514337N 0004312W - 514413N 0004353W - 514447N 0004424W - 514519N 0004457W - 514556N 0004610W - 514624N 0004720W - 514646N 0004827W - 514703N 0004907W - 514806N 0005056W
(BISHOPSTONE TO SOUTH HEATH). MAX HGT 500FT AGL. FOR INFO 074647 13829. AR-2026-1157/02.
F) SFC G) 1300FT AMSL

H0386/26
SR-SS
FLYING OF LARGE MODEL ACFT WI 1NM RADIUS OF 510652N 0021702W (NORTON FERRIS). FOR INFO 07812 707597. AR-2026-773/01.
F) SFC G) 2400FT AMSL

H0292/26
0930-1800
FLYING OF LARGE MODEL ACFT WI 1NM RADIUS OF 521200N 0002130W (COLMWORTH, BEDFORDSHIRE). FOR INFO 07876 200320 / 07785 397346. AR-2026-541/01.
F) SFC G) 1300FT AMSL

H0195/26
FEB 21-MAR 28 0900-2200, MAR 29-MAY 21 0800-2100
FLYING OF LARGE MODEL ACFT WI 1NM RADIUS OF 522930N 0010010W (LAUGHTON). FOR INFO 07824 862575. AR-2025-7013/04.
F) SFC G) 2100FT AMSL

H0643/26
SR-SS
FLYING OF LARGE MODEL ACFT WI 1NM RADIUS OF 515906N 0000951W (BALDOCK, HERTFORDSHIRE). FOR INFO 07710 924721. AR-2026-1362/02.
F) SFC G) 2000FT AMSL

H0642/26
SR-SS
FLYING OF LARGE MODEL ACFT WI 1NM RADIUS OF 514301N 0001544W (SHENLEY, HERTFORDSHIRE). FOR INFO 07710 924721. AR-2026-1359/01.
F) SFC G) 2000FT AMSL

H0644/26
SR-SS
FLYING OF LARGE MODEL ACFT WI 1NM RADIUS OF 525528N 0005747E (BINHAM). FOR INFO 07710 924721. AR-2026-1364/01.
F) SFC G) 1700FT AMSL

V0009/26
SECURITY - HAZARDOUS SITUATION IN LIBYA
UK REGISTERED AIR OPERATORS ARE RECOMMENDED NOT TO ENTER FIR TRIPOLI (HLLL). POTENTIAL RISK FROM ANTI-AIRCRAFT WEAPONRY.
THIS SUPERSEDES THE ADVICE IN THE CURRENT UK AIP.
UK AIP ENR 1.1. PARA 1.4.5 REFERS.
F) SFC G) UNL

H0615/26
SR-SS
UNMANNED CAPTIVE BALLOON WI 1NM RADIUS OF PSN 545800N 0014143W (GATESHEAD, TYNE AND WEAR) IN LOW FLYING AREA 12 AND NIGHT SECTOR 4AS. MAX HGT 200FT AGL. 26/02/093/LFTP
F) SFC G) 600FT AMSL

H0556/26
FEB 17 - MAR 28 1200-2359, MAR 29 - MAY 17 1100-2259
UAS SWARM OPR WI 0.2NM RADIUS OF 511817N 0021844W (NORTON SAINT PHILIP). SWARM MADE UP OF 1000 UAS. MAX HGT 400FT AGL. FOR INFO 079153 11799. AR-2026-1200/01.
F) SFC G) 800FT AMSL

H0397/26
SR-SS
FLYING OF LARGE MODEL ACFT WI 0.3NM RADIUS OF 514901N 0015625W (CHEDWORTH ABANDONED AD). FOR INFO 07816 506828. AR-2026-796/01.
F) SFC G) 2400FT AMSL

H0460/26
FEB 16 - MAR 28 1000-2330, MAR 29 - MAY 16 0900-2230
UAS SWARM OPR WI 0.1NM RADIUS OF 514518N 0001546W (SMALLFORD, HATFIELD). SWARM MADE UP OF 600 UAS. MAX HGT 400FT AGL.
FOR INFO 07738 612566. AR-2026-965/01.
F) SFC G) 700FT AMSL

H0412/26
FEB 07 - MAR 28 1000-1900, MAR 29 - MAY 07 0900-1800
FLYING OF LARGE MODEL ACFT WI 0.5NM RADIUS OF 543321N 0010408W (GUISBOROUGH). INCLUDES HIGH SPEED GAS TURBINE MODELS. FOR INFO 07528 971745. AR-2026-847/02.
F) SFC G) 1500FT AMSL

B0254/26
THE FOLLOWING UAS RESTRICTED AREAS HAVE BEEN REMOVED FROM THE AIP WEF 19 FEBRUARY 2026
EGRU185 NSA BOSCOMBE DOWN
EGRU268 NSA BRIZE NORTON
EGRU354 NSA CONINGSBY
EGRU707 NSA KYLE OF LOCHALSH
EGRU708 NSA LOSSIEMOUTH
EGRU276 NSA MARHAM
EGRU280 NSA PONTRILAS
ERGU356 NSA WADDINGTON
UK AIP ENR 5.1 REFERS.
F) SFC G) 1000FT AMSL

V0005/26
SECURITY - HAZARDOUS SITUATION IN THE DEMOCRATIC REPUBLIC OF THE CONGO. UK REGISTERED AIR OPERATORS ARE RECOMMENDED NOT TO ENTER FIR KINSHASA (FZZA) WITHIN 200NM OF THE EASTERN BOUNDARY, BETWEEN THE 1ST PARALLEL NORTH AND THE 5TH PARALLEL SOUTH. POTENTIAL RISK FROM ANTI-AIRCRAFT WEAPONRY. AR-2025-3565/03.
UK AIP ENR 1.1 PARA 1.4.5 REFERS.
F) SFC G) UNL

H0418/26
FEB 04 - MAR 28 0900-2100, MAR 29 - MAY 03 0800-2000
FLYING OF LARGE MODEL ACFT WI 0.27NM RADIUS OF 532854N 0022839W (GLAZEBURY, CHESHIRE). FOR INFO 07969 460032. AR-2026-866/01.
F) SFC G) 2100FT AMSL

H0385/26
FEB 03-MAR 28 1000-1800, MAR 29-MAY 03 0900-1700
FLYING OF LARGE MODEL ACFT WI 1NM RADIUS OF 514105N 0000741W (BOTANY BAY). FOR INFO 07886 138027. AR-2026-777/01.
F) SFC G) 1400FT AMSL

H0335/26
FEB 02 - MAR 28 0800-1700, MAR 29 - APR 30 0700-1600
UAS OPR WI 2.5NM RADIUS OF 542214N 0014612W (CATTERICK GARRISON). MAX HGT 400FT AGL. FOR INFO 01748 87 5503. AR-2026-650/01.
F) SFC G) 1500FT AMSL

H0329/26
JAN 29-MAR 28 0800-1800, MAR 29-APR 29 0700-1700
UAS OPR WI AREA BOUNDED BY STRAIGHT LINES JOINING
512837N 0011752W - 512828N 0011738W - 512811N 0011732W -
512758N 0011800W - 512744N 0011807W - 512748N 0011828W -
512811N 0011835W - 512821N 0011832W - 512825N 0011811W -
512833N 0011807W - 512837N 0011752W (CHIEVELEY). MAX HGT 900FT
AGL. FOR INFO 07342 386615. AR-2026-631/01.
F) SFC G) 1400FT AMSL

H0252/26
JAN 28 31 FEB 04 07 11 14 18 21 25 28 MAR 04 07 11 14 18 21 25 28
, 1000-1700, APR 01 04 08 11 15 18 22 25 0900-1600
FLYING OF LARGE MODEL ACFT WI 0.55NM RADIUS OF 540817N 0012500W
(DISHFORTH). FOR INFO 07749 736802. AR-2026-458/01.
F) SFC G) 1700FT AMSL

H0078/26
JAN 27-MAR 28 1000-2359, MAR 29-APR 25 0900-2259
UAS SWARM OPR WI 1NM RADIUS OF 530716N 0010120W (BILSTHORPE).
SWARM MADE UP OF 500 UAS. MAX HGT 600FT AGL.
FOR INFO 07547 155440. AR-2026-111/01.
F) SFC G) 1000FT AMSL

H0086/26
SAT SUN 1000-1800
FLYING OF LARGE MODEL ACFT WI 0.3NM RADIUS OF 504838N 0005525W
(THORNEY ISLAND). FOR INFO 07906 078495 / 07808 926007.
AR-2026-138/01.
F) SFC G) 1300FT AMSL

H0163/26
22 JAN - 28 MAR 0700-2100, 29 MAR - 21 APR 0600-2000
FLYING OF LARGE MODEL ACFT WI 0.5NM RADIUS OF 534202N 0011955W
(PONTEFRACT PARK, PONTEFRACT). FOR INFO 07802 725231.
AR-2026-211/01.
F) SFC G) 1800FT AMSL

H0197/26
JAN 20-MAR 28 0800-1900, MAR 29-APR 18 0900-2000
FLYING OF LARGE MODEL ACFT WI 0.6NM RADIUS OF 505533N 0020117W
(CASHMOOR). FOR INFO 07909022800. AR-2026-344/01.
F) SFC G) 1900FT AMSL

H0226/26
FLARE FIRING WI 2NM RADIUS OF 542211N 0014603W
(CATTERICK GARRISON). FLARES WILL DESCEND BY PARACHUTE. FOR INFO
01748 875503. AR-2026-401/01.
F) SFC G) 2100FT AMSL

H0219/26
JAN 19-MAR 28 0800-2230, MAR 29-APR 14 0700-2130
FLYING OF LARGE MODEL ACFT WI 1NM RADIUS OF 521435N 0012040W
(SOUTHAM, WARWICKSHIRE). FOR INFO 07801 281492. AR-2026-383/01.
F) SFC G) 2100FT AMSL

H0181/26
SR-SS
FLYING OF LARGE MODEL ACFT WI 0.5NM RADIUS OF 522358N 0000615W
(WARBOYS). FOR INFO 07586 292737. AR-2026-311/01.
F) SFC G) 1700FT AMSL

H0131/26
17 JAN-28 MAR 0800-2100, 29 MAR-14 APR 0700-2000
FLYING OF LARGE MODEL ACFT WI 1NM RADIUS OF 514232N 0000753W
(CUFFLEY). FOR INFO 07496 769327 / 07733 112937. AR-2026-209/01.
F) SFC G) 1700FT AMSL

V0004/26
NATIONAL SECURITY / SAFETY - AFGHANISTAN. UK CIVIL AIR OPERATORS ARE STILL REQUIRED TO CONSIDER THE ICAO CONTINGENCY COORDINATION TEAM BULLETIN 14 DATED 06 OCT 2025 FOR FLIGHT PLANNING AND OPERATIONAL PURPOSES. FOR INFO CTC 02079 443111. AR-2026-368/02.
F) SFC G) UNL

H0196/26
JAN 15-MAR 28 1000-2100, MAR 29-31 0900-2000
FLYING OF LARGE MODEL ACFT WI 1NM RADIUS OF 531943N 0004728W (LITTLEBOROUGH). FOR INFO 07710 863042 / 07865 936556. AR-2025-10064/02.
F) SFC G) 1300FT AMSL

H0194/26
JAN 15 0911-1700, JAN 16-MAR 28 0900-1700, MAR 29-30 0800-1600
FLYING OF LARGE MODEL ACFT WI 1NM RADIUS OF 513448N 0013008W (SPARSHOLT). FOR INFO 07454 733211. AR-2025-10070/02.
F) SFC G) 2200FT AMSL

H0143/26
JAN 13-MAR 28 0800-1800, MAR 29-APR 08 0700-1700
UAS OPR BEYOND VISUAL LINE OF SIGHT (BVLOS) UTILISING VISUAL OBSERVERS (EXTENDED LINE OF SIGHT) WI 0.8NM RADIUS OF 521117N 0012724E (FARNHAM). MAX HGT 657FT AGL. FOR INFO 07818 502243. AR-2026-225/01.
F) SFC G) 800FT AMSL

H0142/26
JAN 13-MAR 28 0800-1800, MAR 29-APR 08 0700-1700
UAS OPR BEYOND VISUAL LINE OF SIGHT (BVLOS) UTILISING VISUAL OBSERVERS (EXTENDED LINE OF SIGHT) WI AREA BOUNDED BY STRAIGHT LINES JOINING 521741N 0013228E - 521730N 0013256E - 521531N 0013101E - 521519N 0013125E - 521538N 0013158E - 521528N 0013213E - 521507N 0013226E - 521502N 0013256E - 521451N 0013316E - 521446N 0013344E - 521442N 0013404E - 521341N 0013500E - 521328N 0013442E - 521349N 0013411E - 521345N 0013327E - 521408N 0013304E - 521430N 0013257E - 521457N 0013156E - 521453N 0013140E - 521455N 0013051E - 521447N 0012955E - 521524N 0012944E - 521703N 0013118E - 521741N 0013228E
(BRAMFIELD TO SIZEWELL). MAX HGT 657FT AGL. FOR INFO 07818502243. AR-2026-224/01.
F) SFC G) 800FT AMSL

H0144/26
JAN 13-MAR 28 0800-1800, MAR 29-APR 08 0700-1700
UAS OPR BEYOND VISUAL LINE OF SIGHT (BVLOS) UTILISING VISUAL OBSERVERS (EXTENDED LINE OF SIGHT) WI 0.5NM RADIUS OF 520950N 0012303E (WICKHAM MARKET, SUFFOLK). MAX HGT 657FT AGL. FOR INFO 07818 502243. AR-2026-228/01.
F) SFC G) 800FT AMSL

H0145/26
JAN 13-MAR 28 0800-1800, MAR 29-APR 08 0700-1700
UAS OPR BEYOND VISUAL LINE OF SIGHT (BVLOS) UTILISING VISUAL OBSERVERS (EXTENDED LINE OF SIGHT) WI AREA BOUNDED BY STRAIGHT LINES JOINING 521401N 0013730E - 521245N 0013744E - 521244N 0013653E - 521228N 0013658E - 521219N 0013640E - 521211N 0013609E - 521205N 0013607E - 521205N 0013554E - 521234N 0013500E - 521253N 0013447E - 521252N 0013359E - 521238N 0013357E - 521242N 0013317E - 521250N 0013319E - 521312N 0013348E - 521321N 0013345E - 521327N 0013422E - 521332N 0013459E - 521359N 0013533E - 521419N 0013620E - 521401N 0013730E (LEISTON TO SIZEWELL).
MAX HGT 657FT AGL. FOR INFO 07818502243. AR-2026-223/01.
F) SFC G) 800FT AMSL

H0146/26
JAN 13-MAR 28 0800-1800, MAR 29-APR 08 0700-1700
UAS OPR BEYOND VISUAL LINE OF SIGHT (BVLOS) UTILISING VISUAL
OBSERVERS (EXTENDED LINE OF SIGHT) WI 0.2NM RADIUS OF
522008N 0013027E (HALESWORTH, SUFFOLK). MAX HGT 657FT AGL.
FOR INFO 07818 502243. AR-2026-226/01.
F) SFC G) 800FT AMSL

H0141/26
SR-SS
UAS OPR BEYOND VISUAL LINE OF SIGHT (BVLOS) UTILISING VISUAL
OBSERVERS (EXTENDED LINE OF SIGHT) WI AREA BOUNDED BY STRAIGHT
LINES JOINING 521401N 0013730E - 521245N 0013744E -
521244N 0013653E - 521228N 0013658E - 521219N 0013640E -
521211N 0013609E - 521205N 0013607E - 521205N 0013554E -
521234N 0013500E - 521253N 0013447E - 521252N 0013359E -
521238N 0013357E - 521242N 0013317E - 521250N 0013319E -
521312N 0013348E - 521321N 0013345E - 521327N 0013422E -
521332N 0013459E - 521359N 0013533E - 521419N 0013620E -
521401N 0013730E (SIZEWELL). MAX HGT 657FT AGL.
FOR INFO 07818 502243. AR-2026-220/01.
F) SFC G) 800FT AMSL

H0029/26
SR-SS
UAS OPR WI 1NM RADIUS OF 515056N 0005818W (WADDESDON). BEYOND
VISUAL LINE OF SIGHT. MAX HGT 50FT AGL. FOR INFO 07894 568601 /
07852 318946. AR-2025-9914/04.
F) SFC G) 500FT AMSL

H0115/26
JAN 12-MAR 28 0600-2359, MAR 29-APR 10 0500-2259
LIVE FIRING WI 1NM RADIUS OF 514910N 0011008W (OTMOOR SMALL ARMS
RANGE). INCREASE TO AIR **DANGER** HEIGHT. FOR INFO CONTACT 07970
337862 OR 07717 542388. AR-2026-163/02.
F) SFC G) 1000FT AMSL

H0060/26
JAN 11 - MAR 28 0900-2000, MAR 29 - APR 10 0800-1900
FLYING OF LARGE MODEL ACFT WI 0.13NM RADIUS OF 524451N 0025108W
(MONTFORD BRIDGE). FOR INFO 07909 511031. AR-2026-95/01.
F) SFC G) 1800FT AMSL

H0024/26
SR-SS
FLYING OF LARGE MODEL ACFT WI 1NM RADIUS OF 522242N 0005308E
(KNETTISHALL). FOR INFO 00447914094525. AR-2026-36/01.
F) SFC G) 1200FT AMSL

H0116/26
KIRTON-IN-LINDSEY GLIDER SITE, LINCS PSN 532745N 0003436W
SFC-2000FT AGL, SITE NO LONGER **ACTIVE**. UK AIP ENR 5.5, VFR CHARTS
REFERS.
F) SFC G) 2203FT AMSL

H0023/26
SR-SS
FLYING OF LARGE MODEL ACFT WI 1NM RADIUS OF 515909N 0020454W
(ASHCHURCH). FOR INFO 07778 034399. AR-2025-10111/02.
F) SFC G) 1700FT AMSL

H0030/26
JAN 07-MAR 28 0700-1800, MAR 29-APR 06 0600-1700
UAS OPR BEYOND VISUAL LINE OF SIGHT (BVLOS) UTILISING VISUAL OBSERVERS (EXTENDED LINE OF SIGHT) WI AREA BOUNDED BY STRAIGHT LINES JOINING 521406N 0013555E - 521401N 0013737E - 521303N 0013726E - 521304N 0013642E - 521237N 0013643E - 521233N 0013725E - 521222N 0013723E - 521214N 0013607E - 521234N 0013500E - 521247N 0013301E - 521406N 0013555E (SIZEWELL). MAX HGT 500FT AGL. FOR INFO 07464 713829. AR-2026-7/03.
F) SFC G) 600FT AMSL

H9695/25
1200-2300
UAS SWARM OPR WI 0.4NM RADIUS OF 504455N 0004605W (CHURCH NORTON). SWARM MADE UP OF 100 UAS. MAX HGT 600FT AGL. FOR INFO 01243 908031. AR-2025-9845/01.
F) SFC G) 700FT AMSL

H9383/25
SR-SS
FLYING OF LARGE MODEL ACFT WI 1NM RADIUS OF 540815N 0002238W (WOLD NEWTON). FOR INFO 07483 223878. AR-2025-9554/01.
F) SFC G) 1600FT AMSL

H9629/25
0800-1700
FLYING OF LARGE MODEL ACFT WI 0.5NM RADIUS OF 533943N 0003340W (WINTERTON). FOR INFO 07508 525011. AR-2025-10010/01.
F) SFC G) 1600FT AMSL

EISN SHANNON FIR/UIR

Please see section EXTENDED AREA AROUND DESTINATION

[Company NOTAM]

==========

CREW ALERT

==========

SB007/14

SUBJECT: AUTO COST INDEXES
WHEN PLANNING A COST INDEX, 2 OPTIONS ARE AVAILABLE. PILOTS MAY EITHER SELECT A SPECIFIC COST INDEX NUMBER FROM THE LIST, OR THEY MAY SELECT "AUTO". WHEN PLANNING AN "AUTO" COST INDEX, THE SYSTEM WILL REFERENCE THE SCHEDULED "TIME ENROUTE" OPTION AND ATTEMPT TO CHOOSE A COST INDEX WHICH CLOSELY MATCHES THIS VALUE. NOTE THAT THE "TIME ENROUTE" OPTION IS MEANT AS A GATE TO GATE TIME (AS INDICATED ON AN AIRLINE'S FLIGHT SCHEDULE, FOR EXAMPLE). IF A "TIME ENROUTE" OF 2:30 IS SELECTED, THE SYSTEM WILL SUBTRACT THE TAXI TIMES FROM THIS VALUE TO DETERMINE THE SCHEDULED AIR TIME. IT WILL THEN DETERMINE AND USE THE COST INDEX WHICH MATCHES THIS AIR TIME.

SB003/13

SUBJECT: FLIGHT RELEASE UNITS
ALL FLIGHT CREW: PLEASE PAY SPECIAL ATTENTION TO THE UNITS SELECTION WHEN GENERATING A FLIGHT PLAN. FAILURE TO IDENTIFY THE CORRECT UNITS WHEN REFUELING PRIOR TO FLIGHT CAN RESULT IN DEPARTING WITH INSUFFICIENT FUEL AND/OR AN ERRONEOUS PAYLOAD.

==========

CREW BULLETIN

==========

NIL

========== END OF LIDO-NOTAM-BULLETIN ==========

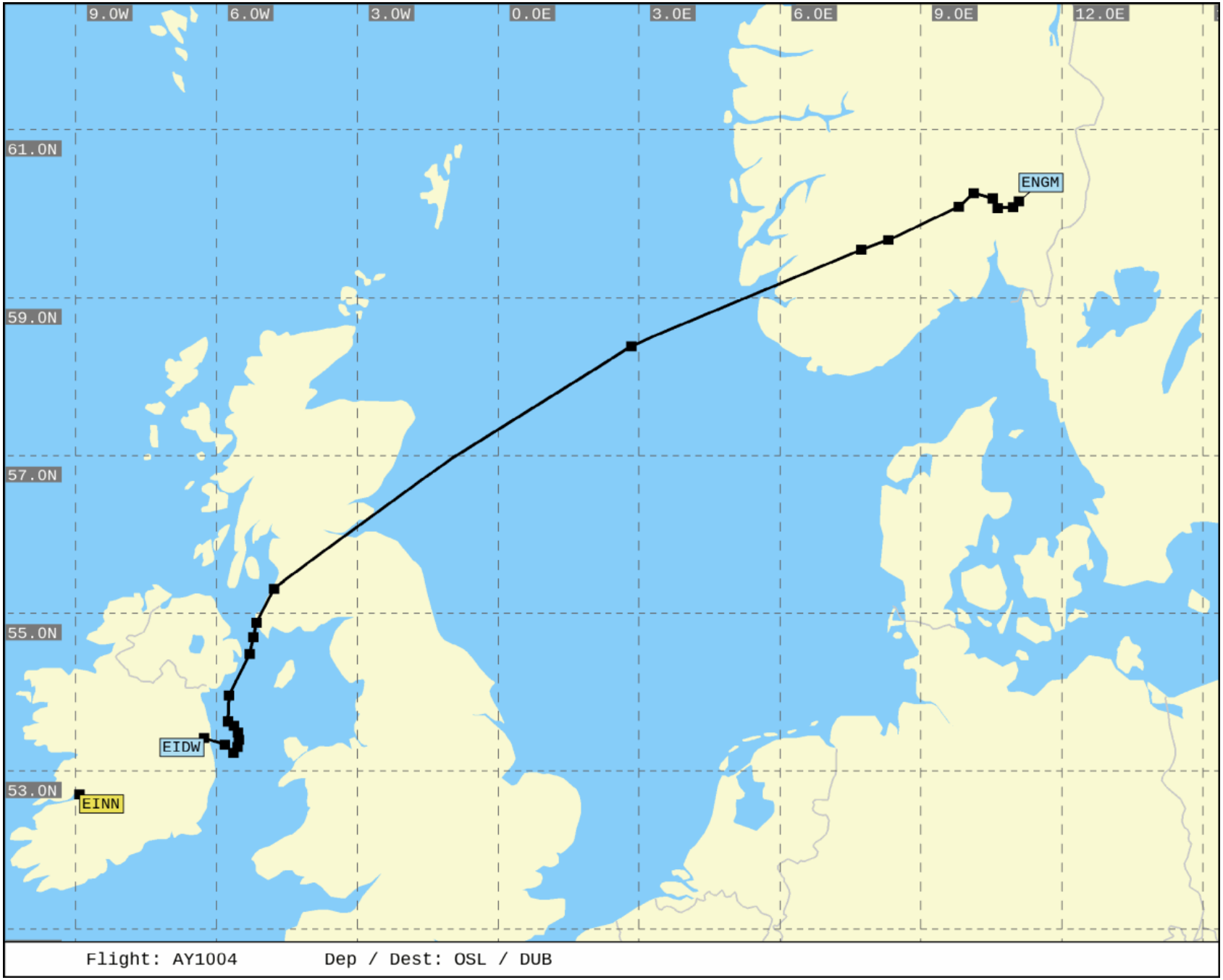
9.0W
6.0W
3.0W
0.0E
3.0E
6.0E
9.0E
12.0E
61.0N
59.0N
57.0N
55.0N
53.0N
ENGM
EIDW
EINN
Flight: AY1004
Dep / Dest: OSL / DUB

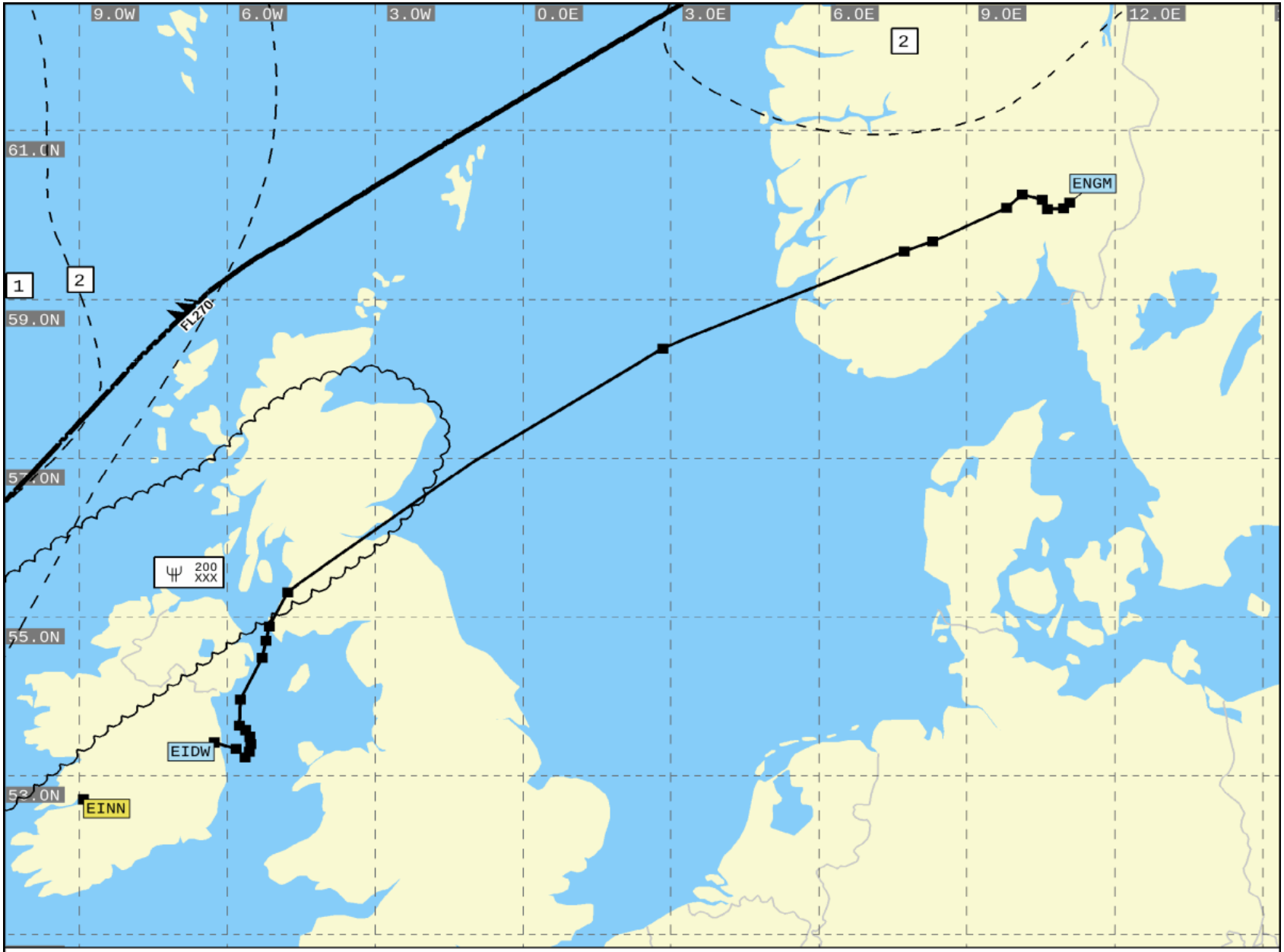

SIG WX FL 100-450 WASHINGTON
VALID 18 UTC ON 18.Mar.2026

1 400 160

2 400 160

Flight: AY1004 Dep / Dest: OSL / DUB

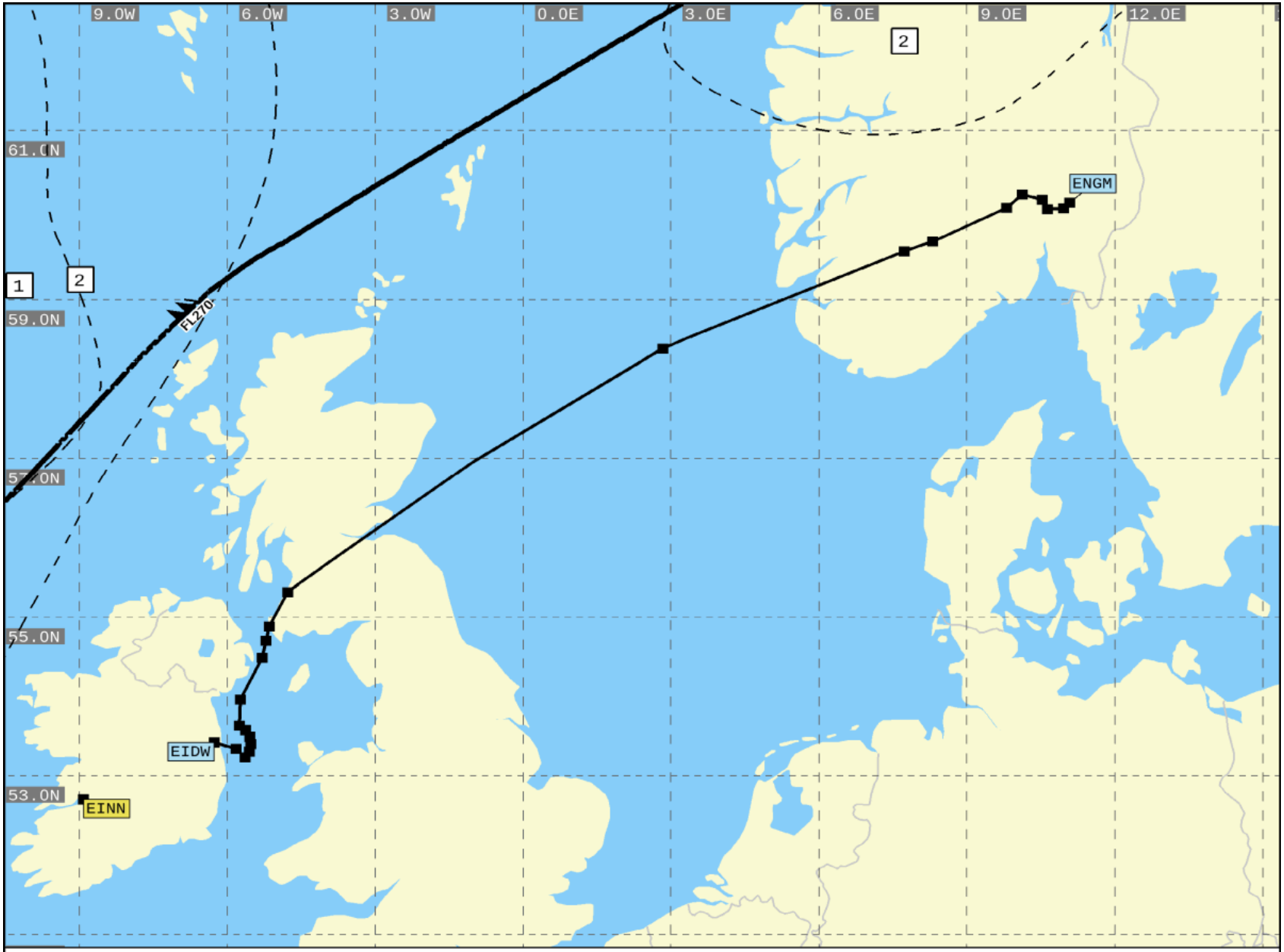

SIG WX FL 250-630 WASHINGTON
VALID 18 UTC ON 18.Mar.2026

1 400 XXX

2 400 XXX

Flight: AY1004 Dep / Dest: OSL / DUB

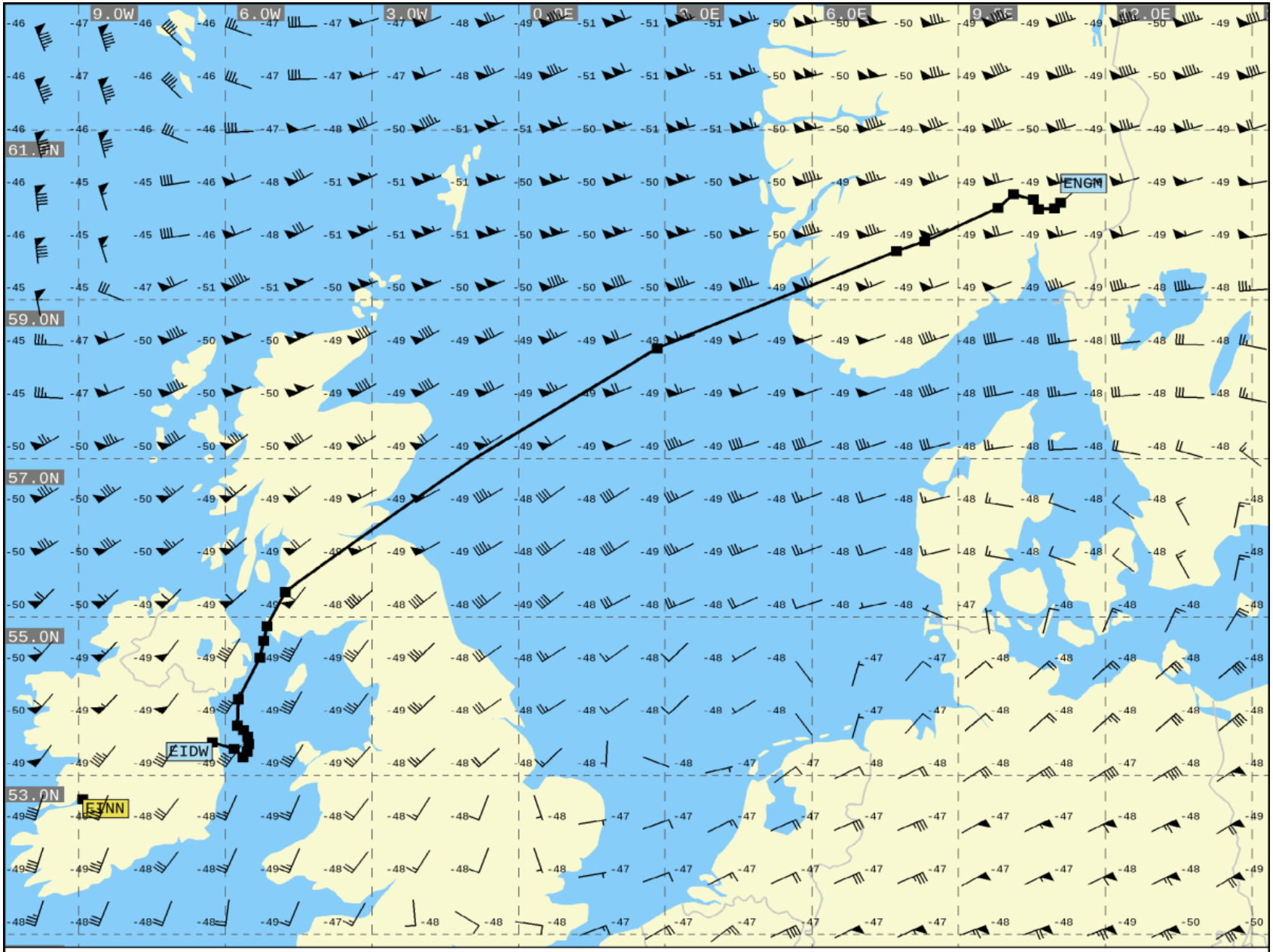

UAD VALID 18 UTC ON 18.Mar.2026 06h FL 300

Flight: AY1004 Dep / Dest: OSL / DUB

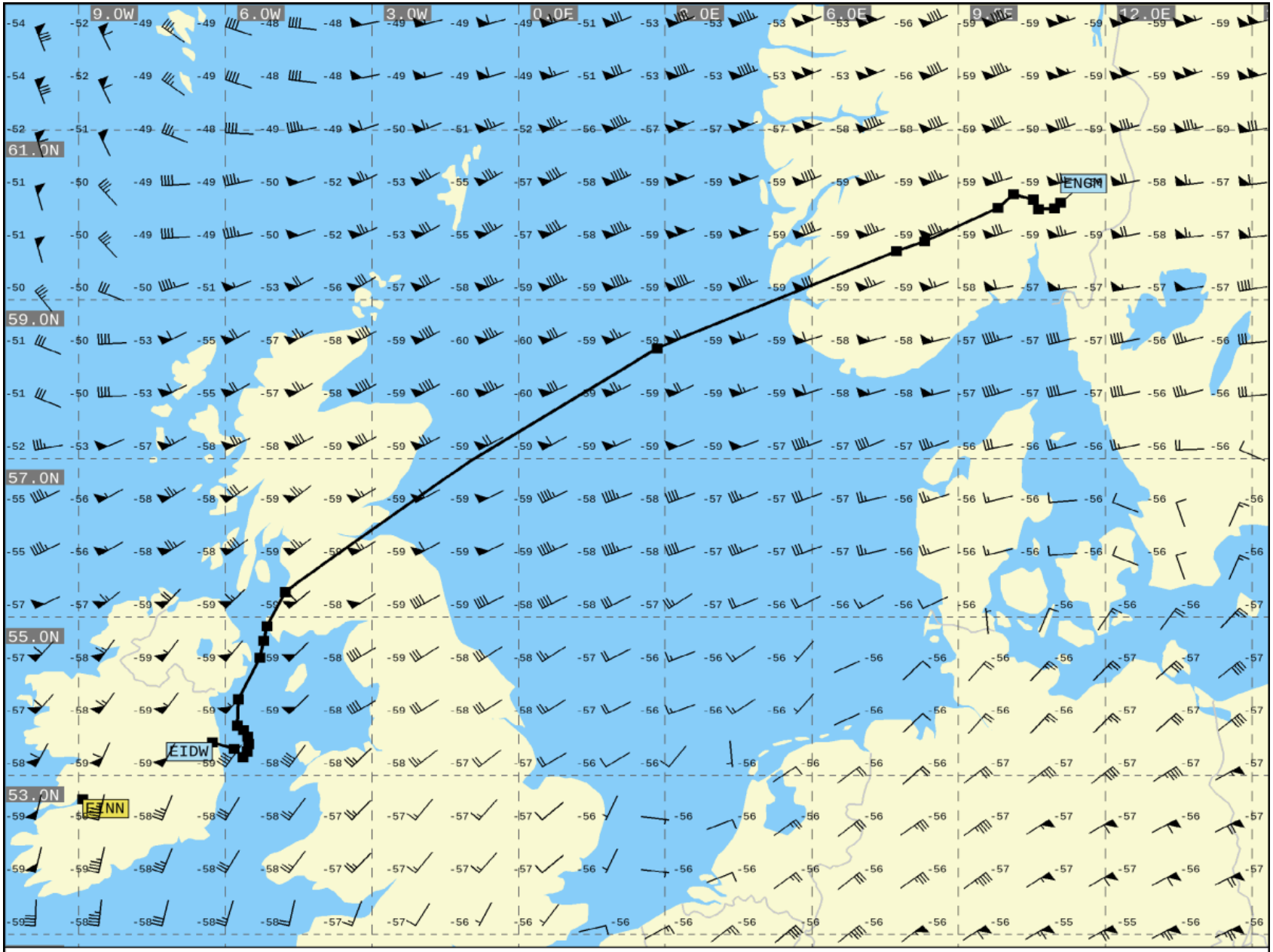

UAD VALID 18 UTC ON 18.Mar.2026 06h FL 340

Flight: AY1004 Dep / Dest: OSL / DUB

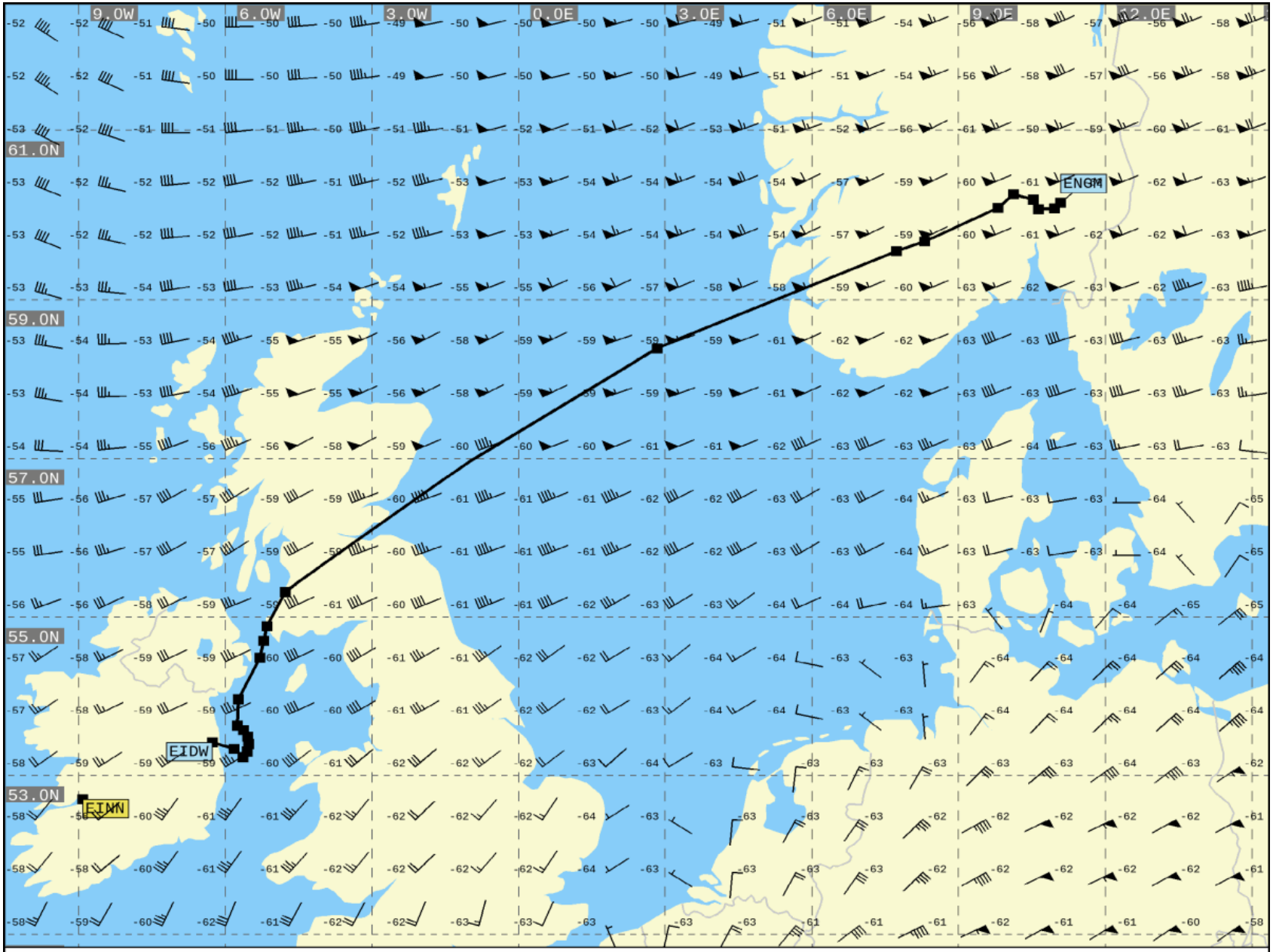

UAD VALID 18 UTC ON 18.Mar.2026 06h FL 390

Flight: AY1004 Dep / Dest: OSL / DUB



Profile VALID 18 UTC ON 18.Mar.2026 06h Average

Flight: AY1004 Dep / Dest: OSL / DUB

End of Document: Total Number of Pages: 59