[OFP]

```
---------------------------------------------------------------------
FIN1003   17MAR2026    ESSA-ENGM   A333 N339SB  RELEASE 1257 17MAR26
OFP 3               ARLANDA-GARDERMOEN
                         WX PROG 1712 1715 1718   OBS 1706 1706 1706

  ATC C/S   FIN1003      ESSA/ARN   ENGM/OSL      CRZ SYS      CI 43
17MAR2026   N339SB       1315/1335  1421/1429     GND DIST       256
A330-300 / TRENT 772                STA  1430     AIR DIST       282
                         CTOT:....                G/C DIST       208
                                                  AVG WIND   302/038
MAXIMUM    TOW 233000  LAW 187000  ZFW 175000     AVG W/C       M034
ESTIMATED  TOW 169866  LAW 165390  ZFW 157453     AVG ISA       M004
                                                  AVG FF KGS/HR 5817
                                                  FUEL BIAS    P00.0
ALTN ENOL                                         TKOF ALTN  .......
FL STEPS ESSA/0340/
---------------------------------------------------------------------
DISP RMKS   NIL

---------------------------------------------------------------------
         PLANNED FUEL
----------------------------------
FUEL           ARPT   FUEL   TIME
----------------------------------
TRIP            OSL   4476   0046
CONT 15 MIN           1454   0015
ALTN            OLA   4321   0047
FINRES                2162   0030
----------------------------------
MINIMUM T/OFF FUEL   12413   0218
----------------------------------
EXTRA                    0   0000
----------------------------------
T/OFF FUEL           12413   0218
TAXI            ARN    544   0020
----------------------------------
BLOCK FUEL      ARN  12957
PIC EXTRA            .....
TOTAL FUEL           .....
REASON FOR PIC EXTRA ............
---------------------------------------------------------------------
FMC INFO:
FINRES+ALTN           6483
TRIP+TAXI             5020
---------------------------------------------------------------------
NO TANKERING RECOMMENDED (P)
---------------------------------------------------------------------
I HEREWITH CONFIRM THAT I HAVE PERFORMED A THOROUGH SELF BRIEFING
ABOUT THE DESTINATION AND ALTERNATE AIRPORTS OF THIS FLIGHT
INCLUDING THE APPLICABLE INSTRUMENT APPROACH PROCEDURES, AIRPORT
FACILITIES, NOTAMS AND ALL OTHER RELEVANT PARTICULAR INFORMATION.

DISPATCHER: SHELLY MUNOZ                PIC NAME: GM, PAYAM

TEL: +1 800 555 0199               PIC SIGNATURE: ...............
```

```
ALTERNATE ROUTE TO:                                          FINRES   2162
APT      TRK DST              VIA                        FL  WC  TIME  FUEL
-----------------------------------------------------------------------
ENOL/15  349 271  RIBBE1C RIBBE DCT UTUNA              340 M013 0047  4321
                  UTUNA1N
-----------------------------------------------------------------------

MEL/CDL ITEMS DESCRIPTION
------------- -----------

-----------------------------------------------------------------------

ROUTING:

ROUTE ID: DEFRTE
ESSA/19R ARS6G ARS N623 IBGAX DCT EBURI N623 ESEBA ESEBA4M ENGM/19L

-----------------------------------------------------------------------
DEPARTURE ATC CLEARANCE:
.
.
.
-----------------------------------------------------------------------
                         OPERATIONAL IMPACTS
                         -------------------
WEIGHT CHANGE UP 1.0          TRIP  P 0017 KGS   TIME M 0000
WEIGHT CHANGE DN 1.0          TRIP  M 0013 KGS   TIME P 0000
FL CHANGE     UP FL1                 NOT AVAILABLE
FL CHANGE     DN FL1          TRIP  P 0048 KGS   TIME P 0000
FL CHANGE     DN FL2          TRIP  P 0109 KGS   TIME P 0000
SPD CHANGE    CI 0            TRIP  M 0001 KGS   TIME P 0000
SPD CHANGE    CI 300          TRIP  P 0067 KGS   TIME M 0000
-----------------------------------------------------------------------
```

```
-----------------------------------------------------------------------
ATIS:
.
.
--------- --------- --------- --------- --------- --------- --------
RVSM: ALT SYS  LEFT:             STBY:             RIGHT:

--------- --------- --------- --------- --------- --------- --------
-----------------------------------------------------------------------
                                TIMES
                                -----

               ESTIMATED        SKED              ACTUAL

OUT            1315Z/1415L      1315Z/1415L       ......Z

OFF            1335Z/1435L      1335Z/1435L       ......Z

ON             1421Z/1521L      1422Z/1522L       ......Z

IN             1429Z/1529L      1430Z/1530L       ......Z

BLOCK TIME     0114             0115              ......

-----------------------------------------------------------------------
                               WEIGHTS
                               -------

                EST      MAX     ACTUAL

PAX             289              ......

BAG/CARGO       7.2              ......

PAYLOAD        30.2              ......

ZFW           157.5    175.0     ......

FUEL           13.0     34.6     ......  POSS EXTRA 21.6

TOW           169.9    191.5  LDG......

STAB TRIM                        ......

LAW           165.4    187.0     ......

-----------------------------------------------------------------------
                       TERRAIN CLEARANCE CHECK
                       -----------------------
DD CHECK - TERRAIN CLEARANCE CHECK DISABLED

DP CHECK - TERRAIN CLEARANCE CHECK DISABLED
-----------------------------------------------------------------------
```

FLIGHT LOG

MOST CRITICAL MORA 04300 FEET AT TITLA///MXSHR 01 AT TOC

AWY POSITION IDENT FREQ	LAT LONG	EET TTLT	ETO ATO	FL MORA DIS	IMT ITT RDIS	MN TAS GS	WIND COMP SHR	OAT TDV TRP	EFOB AFOB	PBRN ABRN
					182				12.4	0.5
ARLANDA	N5939.1		...	22	190		M015			
ESSA	E01755.1	0000	...		256	239			....	....
ARS6G				023	224	.39	231/020	01	11.9	1.0
SA705	N5937.4	0001	...	22	231		M015	M09		
SA705	E01754.5	0001	...	2	254	239		363	....	....
ARS6G				059	235	.42	242/017	M03	11.7	1.3
SA704	N5935.2	0001	...	22	242		M017	M06		
SA704	E01749.0	0002	...	4	250	253		363	....	....
ARS6G				080	265	.43	253/014	M07	11.5	1.4
SA706	N5934.0	0001	...	22	272		M014	M06		
SA706	E01744.4	0003	...	3	247	265		363	....	....
ARS6G				239	274	.72	331/031	M36	10.2	2.8
AROS	N5935.2	0005	...	23	281		M017	M03		
ARS	E01639.0	0008	...	33	214	419		368	....	....
112.80										
N623				281	276	.79	320/042	M45	9.8	3.1
BEDLA	N5937.7	0002	...	29	282		M033	M04		
BEDLA	E01613.5	0010	...	13	201	436		377	....	....
N623				335	275	.80	319/060	M57	9.4	3.6
IBGAX	N5943.3	0003	...	27	282		M049	M05		
IBGAX	E01523.7	0013	...	26	175	409		371	....	....
DCT				340	277	.80	319/061	M58	9.3	3.6
T O C	N5943.8	0000	...	34	282	457	M050	M05		
	E01519.9	0013	...	2	173	407	1	371	....	....
DCT				340	275	.79	319/061	M58	9.1	3.9
EBURI	N5948.0	0004	...	35	281	450	M050	M05		
EBURI	E01439.6	0017	...	21	152	400	1	371	....	....
N623				340	276	.79	304/060	M58	8.5	4.5
T O D	N5956.5	0006	...	34	280	451	M056	M05		
	E01311.7	0023	...	45	107	395	0	369	....	....
N623				292	274	.80	305/050	M47	8.5	4.5
TEKVA	N5959.1	0003	...	34	279		M046	M04		
TEKVA	E01243.2	0026	...	15	92	423		369	....	....
N623				260	313	.76	288/035	M39	8.4	4.5
ESEBA	N6000.8	0002	...	36	318		M035	M02		
ESEBA	E01223.5	0028	...	10	82	419		375	....	....

```
AWY                                FL   IMT   MN    WIND  OAT  EFOB  PBRN
POSITION    LAT      EET ETO MORA  ITT  TAS    COMP  TDV
IDENT       LONG    TTLT ATO DIS  RDIS   GS     SHR  TRP  AFOB  ABRN
FREQ
-----------------------------------------------------------------------
POLARIS FIR
-ENOR       N6000.8 0000 ...
           E01223.6 0028 ...   0    82

ESEBA4M                       241   314  .73 282/031  M35   8.4   4.6
KEGET       N6005.4 0001 ...  36   319         M025  M02
KEGET      E01215.3 0029 ...   6    76  414          375  ....  ....

ESEBA4M                       196   015  .66 264/022  M24   8.3   4.6
GM422       N6015.8 0003 ...  38   020         M013  P00
GM422      E01157.3 0032 ...  14    62  395          375  ....  ....

ESEBA4M                       173   355  .63 262/021  M19   8.3   4.6
GM423       N6021.9 0001 ...  37   000         P009  P01
GM423      E01202.0 0033 ...   7    55  402          375  ....  ....

ESEBA4M                       151   335  .60 262/022  M14   8.3   4.7
GM424       N6028.5 0001 ...  37   340         P002  P01
GM424      E01202.1 0034 ...   7    48  381          375  ....  ....

ESEBA4M                       128   318  .57 246/030  M10   8.3   4.7
GM425       N6034.7 0001 ...  36   323         P001  P01
GM425      E01157.6 0035 ...   7    41  366          371  ....  ....

ESEBA4M                       112   220  .55 244/030  M07   8.3   4.7
GM453       N6038.7 0001 ...  42   225         M007  P00
GM453      E01151.5 0036 ...   5    36  349          371  ....  ....

ESEBA4M                       051   211  .41 226/038  M02   8.2   4.8
TITLA       N6025.3 0004 ...  43   215         M038  M07
TITLA      E01124.2 0040 ...  19    17  228          375  ....  ....

ESEBA4M                                                   7.9   5.0
GARDERMOEN  N6012.2 0006 ...
ENGM       E01105.0 0046 ...  17                       ....  ....
```

WIND INFORMATION

CLIMB			T O C			EBURI			T O D		
350	320/057	-59	380	321/046	-62	380	321/046	-62	380	306/053	-61
310	324/054	-51	360	320/053	-60	360	320/054	-60	360	305/057	-59
200	339/021	-26	340	319/061	-58	340	319/061	-58	340	304/060	-58
150	345/016	-15	320	319/056	-53	320	319/056	-53	320	305/057	-53
100	263/013	-09	300	318/051	-49	300	318/051	-49	300	306/054	-49

DESCENT

350	304/058	-58
310	306/055	-51
200	264/023	-25
150	262/022	-14
100	249/021	-05

[ATC Flight Plan]

ICAO FLIGHT PLAN

```
FF ESAAZQZX ENORZQZX
171257 CYULSBFP
(FPL-FIN1003-IS
-A333/H-SDE3GHIJ2J3J5M1RVWXY/LB2D1
-ESSA1315
-N0450F340 ARS6G ARS N623 IBGAX DCT EBURI N623 ESEBA ESEBA4M
-ENGM0036 ENOL
-PBN/A1B1C1D1O1S2 DOF/260317 REG/N339SB EET/ENOR0028 OPR/FIN PER/C
 RMK/TCAS)
```

[Additional Info]

D I S P A T C H B R I E F I N G I N F O AY1003 ESSA/ENGM

[Runway Analysis]

```
----------------------------------------------------------------------

TAKEOFF AND LANDING REPORT FIN 1003 ESSA-ENGM 17MAR26
TLR-1 SEQ-166461498 17MAR26 1257Z
A/C N339SB  A330-300 TRENT 772  BEW/CG 127303/.....

/// TAKEOFF DATA ///

APT   PRWY  POAT PWIND  PQNH  PMRTW FLP MT V1 VR V2 PTOW MFPTW LIMIT
ESSA  19R   6.0  202M10 1021  2330  1   54 27 27 38 1699 1915  AFM

RMKS FLEX - SEL TEMP 54
     BLEEDS ON

---- ---- ------ ----- ------- --- --- --- --- --- -----------------
RWY  OAT  WIND   QNH   MRTW    FLP V1  VR  V2  PWR CONFIG/CONDITION

---------------------------- ACARS RUNWAYS --------------------------
RWY          ACARS  LENGTH PMTOW NOTES
01L                 10830  2330 ILS 109.90
01R                  8202  2193 ILS 109.35
08                   8202  2187 ILS 109.55
19L                  8202  2275 ILS 111.35
19R                 10830  2330 ILS 110.70
26                   8202  2330 ILS 110.10

-------------------- DRY RWY - PTOW - CALM WIND --------------------
RWY          MTOW MT CONFIG                   FLP  V1  VR  V2  LIMIT
01L          2330 54 FLEX - BLEEDS ON           1 127 127 138  AFM
01R          2304 54 FLEX - BLEEDS ON           1 127 127 138  FLD
08           2254 54 FLEX - BLEEDS ON           1 127 127 138  FLD
19L          2185 54 FLEX - BLEEDS ON           1 127 127 138  FLD
19R          2330 54 FLEX - BLEEDS ON           1 127 127 138  AFM
26           2304 54 FLEX - BLEEDS ON           1 127 127 138  FLD

--------------- DRY RWY - PTOW PLUS 4000 - CALM WIND ---------------
RWY          MTOW MT CONFIG                   FLP  V1  VR  V2  LIMIT
01L          2330 54 FLEX - BLEEDS ON           1 129 129 138  AFM
01R          2304 54 FLEX - BLEEDS ON           1 129 129 138  FLD
08           2254 54 FLEX - BLEEDS ON           1 129 129 138  FLD
19L          2185 54 FLEX - BLEEDS ON           1 129 129 138  FLD
19R          2330 54 FLEX - BLEEDS ON           1 129 129 138  AFM
26           2304 54 FLEX - BLEEDS ON           1 129 129 138  FLD

------------- WET RWY - PTOW - CALM WIND - ENG A/I ON --------------
RWY          MTOW MT CONFIG                   FLP  V1  VR  V2  LIMIT
01L          2330 54 FLEX - BLEEDS ON           1 127 127 138  AFM
01R          2255 54 FLEX - BLEEDS ON           1 127 127 138  FLD
08           2211 54 FLEX - BLEEDS ON           1 127 127 138  FLD
19L          2142 54 FLEX - BLEEDS ON           1 127 127 138  FLD
19R          2330 54 FLEX - BLEEDS ON           1 127 127 138  AFM
26           2258 54 FLEX - BLEEDS ON           1 127 127 138  FLD
```

```
-------- WET RWY - PTOW PLUS 4000 - CALM WIND - ENG A/I ON ---------
RWY          MTOW MT CONFIG                    FLP  V1  VR  V2  LIMIT
01L          2330 54 FLEX - BLEEDS ON            1 129 129 138  AFM
01R          2255 54 FLEX - BLEEDS ON            1 129 129 138  FLD
08           2211 54 FLEX - BLEEDS ON            1 129 129 138  FLD
19L          2142 54 FLEX - BLEEDS ON            1 128 129 138  FLD
19R          2330 54 FLEX - BLEEDS ON            1 129 129 138  AFM
26           2258 54 FLEX - BLEEDS ON            1 129 129 138  FLD

/// LANDING DATA ///

APT   PRWY  POAT PWIND  PQNH  PMRLW FLP  PLDW  LIMIT
ENGM  19L   4.0  196M15 1016  1870  FULL 1654  AFM

RMKS WET RUNWAY

-------- ---- ------ ----- ------- --- ----- --- --------------------
RWY      OAT  WIND   QNH   MRLW    FLP VREF  PWR CONFIG/CONDITION

---------------------------- ACARS RUNWAYS --------------------------
RWY          ACARS  LENGTH PMRLW NOTES
01L                 11811  1870 ILS 110.30
01R                  9678  1870 ILS 111.95
19L                  9678  1870 ILS 110.55
19R                 11811  1870 ILS 111.30

------------- FLAPS FULL - PACKS ON - NO ENROUTE ICING -------------
DRY RWY / WET RWY
            01L            01R            19L            19R
  OAT       11811 FT       9678 FT        9678 FT        11811 FT
  -01       1870A/1870A    1870A/1870A    1870A/1870A    1870A/1870A
 / 04       1870A/1870A    1870A/1870A    1870A/1870A    1870A/1870A
   09       1870A/1870A    1870A/1870A    1870A/1870A    1870A/1870A
HW/10KT         0/    0        0/    0        0/    0        0/    0
TW/10KT         0/    0        0/    0        0/    0        0/    0

-------- LANDING DISTANCE - FLAPS FULL - MAX MANUAL BRAKING --------
                  ACTUAL            FACTORED
  LDW     VREF     DRY      WET      DRY      WET
  1620    127     3329     4201     4401     5404
  1640    128     3356     4235     4443     5454
/ 1660    128     3383     4269     4485     5504
  1680    129     3410     4304     4527     5555
  1700    130     3437     4338     4569     5605
HW/KT              -20      -26      -23      -29
TW/KT               61       77       90      109

END TAKEOFF AND LANDING REPORT FIN 1003 ESSA-ENGM 17MAR26
```

[Airport WX List]

```
-----------------------------------------------------------------------
ESSA --> ENGM    AY  1003 / 17MAR2026
LIDO/WEATHER SERVICE       DATE : 17Mar2026   TIME : 12:57 UTC

AIRMETs:
  No Wx data available

SIGMETs:
  No Wx data available

Tropical Cyclone SIGMETs:
  No Wx data available

Volcanic Ash SIGMETs:
  No Wx data available

Departure:
ESSA/ARN  ARLANDA
  SA  171250  21010KT 9999 FEW017 06/01 Q1021 NOSIG
  FT  171130  1712/1812 21010KT CAVOK

Destination:
ENGM/OSL  GARDERMOEN
  SA  171220  20009KT 9999 OVC007 04/02 Q1016 NOSIG
  FT  171100  1712/1812 20015KT 9999 BKN008
              TEMPO 1712/1812 2000 DZRA BR OVC002

Destination Alternates:
ENOL/OLA  ORLAND
  SA  171220  14024KT CAVOK 08/M01 Q1001 NOSIG
  FT  171100  1712/1812 13025KT CAVOK
              BECMG 1718/1720 13015KT
              TEMPO 1803/1808 VRB04KT 4000 SHRA BKN012 SCT025TCU
              BECMG 1808/1810 24015KT
              TEMPO 1810/1812 25018G28KT


  AIRPORTLIST ENDED
```

[NOTAM]

LIDO-NOTAM-BULLETIN INCLUDES NOTAM, COMP NOTAM AND AIP-REGULATION
VALID: 2603171315 - 2603171816 STD(EOBT)+TRIP+ALTN+3HRS
FIN 1003 /17MAR OFP-NR: 3
ROUTE: ESSA - ENGM ALTN: ENOL
N0450F340 ARS6G ARS N623 IBGAX DCT EBURI N623 ESEBA ESEBA4M

==========
DEPARTURE AIRPORT - DETAILED INFO
==========

ESSA/ARN ARLANDA

++++++++++++++++++++++++++++ AIRPORT ++++++++++++++++++++++++++++++

A0309/26
TWY CENTRE LINE LIGHTS INT ZG AND ZH BTN Z AND Y **U/S**. MARSHALL O/R.
A0251/26
DME ANE/ARLANDA CH80X **U/S**.
A0222/26
DME ASW/ARLANDA CH84Y **U/S**.
A0221/26
DME ANW/ARLANDA CH57Y **U/S**.
A0068/26
POSITION AND **DIRECTION** SIGN AT **TWY UA** TO **TWY D U/S**.

+++++++++++++++++++++++ APPROACH PROCEDURES +++++++++++++++++++++++

A0331/26
RWY 01R ILS CATEGORY 3 AND 2 **NOT AVBL**. **DOWNGRADED** TO **CAT** 1.
A0015/26
SIGNIFICANT POINTS EKDAS 594218.7N 0181827.3E OXINU 595006.6N 0175906.6E TOMBU 591346.0N 0193404.2E TO BE ADDED TO LIST OF WAYPOINTS AND SIGNIFICANT POINTS. REF AIP **AD** 2 ESSA 4-4.

==========
DESTINATION AIRPORT - DETAILED INFO
==========

ENGM/OSL GARDERMOEN

++++++++++++++++++++++++++++ AIRPORT ++++++++++++++++++++++++++++++

A1697/26
ALL SLOT APPLICATIONS SHALL BE SUBMITTED TO AIRPORT COORDINATION NORWAY. REMOVE PARA 2.4.2. REF **AD** 2 ENGM **AD** 2.20

+++++++++++++++++++++++ APPROACH PROCEDURES +++++++++++++++++++++++

A1833/26
ILS RWY 01L DOWNGRADED TO **CAT** I
A1497/26
LPV MINIMA **SUSPENDED**. REF **AD** 2 ENGM 5-35 RNP Z **RWY 19R**

==========
DESTINATION ALTERNATE AIRPORT(S)
==========

ENOL/OLA ORLAND

++++++++++++++++++++++++++++ AIRPORT ++++++++++++++++++++++++++++++

A1343/26
ACFT STANDS M2 AND M3 ON MAIN APRON OPEN, M1 AND M4 **CLSD**

+++++++++++++++++++++++++++++ SID +++++++++++++++++++++++++++++++

A7801/25
CHANGE SEGMENTS NELSU-UNFUB AND UNFUB-NAXUT TRACK TO READ 359 DEG. UNFUB HLDG TRACK TO READ INBD 359 DEG - OUBD 179 DEG. REF **AD** 2 ENOL 4-12 DATED 12 JUN 2025

==========
EXTENDED AREA AROUND DEPARTURE
==========

ESAA SWEDEN FIR/UIR

++++++++++++++++++++++++++++ FIR/UIR ++++++++++++++++++++++++++++++

A0259/26
SAR HELICOPTER AT ESMK **NOT AVBL**. REF AIP SWEDEN GEN 3.6-2 PARA 3.1 RESCUE UNITS
A0099/26
GNSS AREA-WIDE OPERATIONS AFFECTED. JAMMING AND SPOOFING MAY OCCUR. GPS UNRELIABLE AND MAY NOT BE **AVBL** IN SOUTHEASTERN PART OF SWEDEN FIR. REF ES AIC A10/2024.

++++++++++++++++++++++++++++ WAYPOINT ++++++++++++++++++++++++++++

A0334/26
VOR TRS/TROSA 114.3MHZ STATION MAGNETIC VARIATION 8E.
A0323/26
DME SUM/STORUMAN CH110X **U/S**.
A1358/25
DME FEN/FENGERSFORS CH100Y **U/S**.
A1297/25
VOR VSN/VASSEN 115.25MHZ STATION MAGNETIC VARIATION 7E

++++++++++++++++++++++ RESTRICTED AIRSPACE ++++++++++++++++++++++

A0264/26
TEMPORARY RESTRICTED AREA ESR344 BALSTA ESTABLISHED FOR MILITARY AVIATION OPERATIONS. FLIGHT WITHIN THE AREA PROHIBITED FOR ALL NON-PARTICIPATING AIRCRAFT. AREA BOUNDED BY: 594036N 0173257E - 594035N 0173428E - 593546N 0173650E - 593404N 0173335E - 593507N 0172617E - 594036N 0173257E. AFTER PERMISSION FROM STOCKHOLM ACC THE FOLLOWING TFC ON MISSION IS EXEMPTED: MILITARY FLIGHTS, POLICE, AMBULANCE, THE COAST GUARD, SAR AND RESCUE SERVICES IN ACCORDANCE WITH CIVIL PROTECTION ACT (2003:778).
F) SFC G) 1200FT AMSL

A0211/26
TRIGGER NOTAM - AIP SUP 34/2026 WEF 16 MAR. TEMPORARY RESTRICTED AREAS BETWEEN JOKKMOKK AND TORNETRASK ESTABLISHED. ESR432 TORNE, ESR433 KAITU, ESR434 RAUTA, ESR435 JARVI AND ESR436 JOKKI.
F) SFC G) FL075

A0321/26
TEMPORARY RESTRICTED AREA ESR907 ESTABLISHED OVER TRELLEBORG REF WI A CIRCLE WITH RADIUS 4 NM CENTERED ON 551700N 0130241E. FLIGHT WI THE AREA PROHIBITED FOR ALL ACFT. AFTER CLEARANCE FROM ATCC MALMO +46 40 613 24 00 THE FOLLOWING TFC IS EXEMPTED: RESCUE SERVICES IN ACCORDANCE WITH CIVIL PROTECTION ACT (2003:778), SWEDISH MIL ACFT, ACFT ON POLICE-, AMBULANCE-, CUSTOMS-, COAST GUARD- OR SAR MISSION.
F) SFC G) 2000FT AMSL

A0272/26
TEMPORARY **DANGER** AREA ESD827 AKERBERG IS ESTABLISHED FOR UAS FLYING BEYOND VISUAL LINE OF SIGHT (BVLOS) WITH SPECIAL PERMISSION. AREA BOUNDED BY: 650651N 0204104E - 650629N 0204919E - 650109N 0204809E - 650128N 0204005E - 650651N 0204104E. INFORMATION REGARDING THE OPERATIONS WITHIN THE AREA CAN BE OBTAINED FROM DRONNAIR OY TEL +358 407 067 743.
F) GND G) 1900FT AMSL

A0273/26
TEMPORARY **DANGER** AREA ESD828 HARNAS IS ESTABLISHED FOR UAS FLYING BEYOND VISUAL LINE OF SIGHT (BVLOS) WITH SPECIAL PERMISSION.AREA BOUNDED BY: 591821N 0121422E - 591403N 0122135E - 591144N 0121624E - 591604N 0120906E - 591821N 0121422E. INFORMATION REGARDING THE OPERATIONS WITHIN THE AREA CAN BE OBTAINED FROM DRONNAIR OY TEL +358 407 067 743.
F) GND G) 1700FT AMSL

A0242/26
TRIGGER NOTAM - AIP SUP 36/2026 WEF 12 MAR. TEMPORARY RESTRICTED AREAS IN STOCKHOLM AREA ESTABLISHED. ESR517 ANGARN, ESR518 AKERSBERGA AND ESR523 ANGESTA.
F) SFC G) 1500FT AMSL

A0243/26
TRIGGER NOTAM - AIP SUP 39/2026 WEF 11 MAR UNTIL 17 APR. TEMPORARY RESTRICTED AREA - ESR418 GRONSKAR ESTABLISHED.
F) SFC G) 4000FT AMSL

A0229/26
TEMPORARY RESTRICTED AREA ESR588 GUNNARBY ESTABLISHED FOR MILITARY AVIATION OPERATIONS WITHIN A CIRCLE WITH RADIUS 3NM CENTRED ON 582334N 0113814E. AFTER PERMISSION FROM MALMO ACC OR GOTEBORG/LANDVETTER ATS THE FOLLOWING TFC ON MISSION IS EXEMPTED: MILITARY FLIGHTS, POLICE, AMBULANCE, THE COAST GUARD, SAR AND RESCUE SERVICES IN ACCORDANCE WITH CIVIL PROTECTION ACT (2003:778).
F) SFC G) 2200FT AMSL

A0185/26
TRIGGER NOTAM - AIP SUP 27/2026 WEF 09 MAR. TEMPORARY RESTRICTED AREA - ESR798 SATRA ESTABLISHED.
F) SFC G) 5000FT AMSL

A0293/26
TRIGGER NOTAM - AIRAC AIP SUP 9/26 WEF 09 MAR 2026. MILITARY AIR EXERCISE COLD RESPONSE 26 (CORE26) WILL BE CONDUCTED IN THE NORTHERN PART OF SWEDEN.
F) FL125 G) FL520

A0210/26
TRIGGER NOTAM - AIP SUP 33/2026 WEF 07 MAR. TEMPORARY RESTRICTED AREA - ESR971 OTTSJO ESTABLISHED.
F) 5000FT AMSL G) FL280

A0275/26
TRIGGER NOTAM - AIP SUP 41/2026 WEF 01 JAN 2026 UNTIL 13 MAY 2026. TEMPORARY RESTRICTED AREA - ESR644 MALMO CITY MITT ESTABLISHED. F) 400FT AMSL G) 1200FT AMSL

A0230/26
TEMPORARY RESTRICTED AREA ESR452 KORSOHALS ESTABLISHED FOR AVIATION OPERATIONS. AREA BOUNDED BY: 591731N 0185750E - 591713N 0185841E - 591656N 0185805E - 591651N 0185646E - 591657N 0185619E - 591708N 0185618E - 591717N 0185637E - 591726N 0185711E - 591731N 0185750E. AFTER PERMISSION FROM STOCKHOLM ACC THE FOLLOWING TFC ON MISSION IS EXEMPTED: MILITARY FLIGHTS, POLICE, AMBULANCE, THE COAST GUARD, SAR AND RESCUE SERVICES IN ACCORDANCE WITH CIVIL PROTECTION ACT (2003:778).
F) SFC G) 1500FT AMSL

++++++++++++++++++++++++++++++ ROUTE ++++++++++++++++++++++++++++++

A0029/26
RNAV ROUTE Z330 CHANGED. TRS REPLACED BY INWIQ 585617N 0173008E.

==========
EXTENDED AREA AROUND DESTINATION
==========

ENOR NORWAY FIR

++++++++++++++++++++++++++++++ FIR/UIR ++++++++++++++++++++++++++++++

A1877/26
OBST LIGHT ON MAST PSN 6328N 01128E HGT 75FT, 900FT AMSL **U/S**

A1876/26
OBST LIGHT GRAVDAL BJERKREIM PSN 583331N 0055535E, HGT 1080FT AMSL **U/S**

A1793/26
OBST LGT GLEINEFJELLET PSN 605150N 0053625E **U/S**. HGT 789FT AMSL

A1738/26
LIGHT ON MAST BOTH SIDE OF SJONPOLLEN **U/S**. PSN 662022N 0132831E AND 662040N 0132757E, MAX HGT 525FT AMSL

A1565/26
OBST LIGHT ON WIND TURBINE IN TONSTAD WIND PARK PSN 583052N 0064821E **U/S**. HGT 657FT AGL

A1564/26
OBST LIGHTS ON TWO WIND TURBINES IN TONSTAD WIND PARK PSN 5834N 00645E **U/S**. HGT 657FT AGL

A1384/26
UNICOM/VFR COMMON FREQ FOR PILOT-TO-PILOT TFC INFORMATION IN UNCONTROLLED AIRSPACE WITHIN NORWAY CHANGED: FROM 123.500MHZ TO 123.065MHZ (8.33KHZ CH). EFFECTIVE 01 JAN 2026 0000. USE 123.065MHZ WHEN NO OTHER ATS, RMZ OR LOCAL SAFETY COM AERODROME CH IS ASSIGNED AND PUBLISHED. 123.500MHZ NOT AUTHORIZED FROM 01 JAN 2026

A1360/26
OBST LIGHT HYWIND TAMPEN, HY02 PSN 612115N 0021535E **U/S**, HGT 634FT AMSL

A0997/26
POWERSPAN MARKERS MISSING DUE **WIP** BTN FURENESET AND STOREHAMMAREN PSN 614918N 0054021E. HGT 361FT AGL

A0932/26
FARRIS APP HR OF SER: MON-FRI 0500-2130, SAT 0620-2030, SUN 0620-2245

A0249/26
OBST LGT IN SMOELA VINDPARK PSN 632509N 0075507E HGT 455FT AMSL
U/S
A7108/25
AMEND BALDER CTA GEOMETRY TO READ 601656N 0020013E - 601500N 0042000E - 585348N 0044010E - 583313N 0045027E - 582535N 0042557E - 575608N 0015608E - 582546N 0012854E - 591722N 0014236E - 595346N 0020430E - (601656N 0020013E) REF AIP ENR 2.1

++++++++++++++++++++++++++++ WAYPOINT ++++++++++++++++++++++++++++

A1330/26
NDB OBA/OSEBERG A 353KHZ **U/S**
A1328/26
DME TRL/TROLL CH108X **U/S** DUE MAINT
A0907/26
ADD SIGNIFICANT POINTS IHUSA, POS 674517.00N0142613.00E, RMK FRA(I), TO AIP ENR 4.4 PARA 1. REF AIP ENR 4.4 PARA 2 ENBO.
A0908/26
ADD SIGNIFICANT POINTS OXEMO, POS 675550.00N0142327.00E, RMK FRA(I), TO AIP ENR 4.4 PARA 1. REF AIP ENR 4.4 PARA 2 ENBO

+++++++++++++++++++++++ RESTRICTED AIRSPACE +++++++++++++++++++++++

A1830/26 VALID: 17-MAR-26 1500 - 17-MAR-26 2200
UNMANNED ACFT (BLOS) WILL TAKE PLACE IN TOSKA AREA PSN 604112N 0045533E - 603949N 0045243E - 603716N 0045920E - 603859N 0050042E - (604112N 0045533E). MAX 400FT AGL. CTC +47 99617535
F) GND G) 600FT AMSL
A1847/26 VALID: 17-MAR-26 0900 - 17-MAR-26 1700
UNMANNED ACFT (BLOS) WILL TAKE PLACE FOR POWERLINE INSPECTION IN SONGESAND AREA PSN 585943N 0061245E - 585913N 0062901E - 590239N 0062452E - 590042N 0061237E - (585943N 0061245E). MAX HGT 400FT AGL. CTC TEL +4796003103
F) GND G) 2700FT AMSL
A1865/26 VALID: 17-MAR-26 0800 - 17-MAR-26 1600
0800-1100 1300 -1600
MIL OPR AREA ENT723Z (B23Z) **ACTIVATED**. MIL ACTIVITY MAY OCCUR IN UNCONTROLLED AIRSPACE BELOW THE AREA.
F) FL200 G) FL300
A1868/26 VALID: 17-MAR-26 0800 - 17-MAR-26 1600
0800-1100 1300 -1600
MIL OPR AREA ENT734Z (B34Z) **ACTIVATED**. MIL ACTIVITY MAY OCCUR IN UNCONTROLLED AIRSPACE BELOW THE AREA.
F) FL200 G) FL300
A1867/26 VALID: 17-MAR-26 0800 - 17-MAR-26 1600
0800-1100 1300-1600
MIL OPR AREA ENT733Z (B33Z) **ACTIVATED**. MIL ACTIVITY MAY OCCUR IN UNCONTROLLED AIRSPACE BELOW THE AREA.
F) FL200 G) FL300
A1827/26
DAILY 0800-1600
UNMANNED ACFT (BLOS) WILL TAKE PLACE WITHIN AREA PSN 594625N 0110126E - 594622N 0105445E - 594022N 0105218E - 593503N 0104302E - 593235N 0104236E - 593205N 0104851E - 593217N 0105039E - 593710N 0105627E - 593926N 0105707E - 594042N 0110138E - (594625N 0110126E)MAX HIGHT 150M AGL. CONTACT TEL 47 51209444
F) GND G) 1500FT AMSL

A1844/26 VALID: 17-MAR-26 0800 - 17-MAR-26 1700
UNMANNED ACFT (BLOS) WILL TAKE PLACE FOR POWERLINE INSPECTION IN JORPELAND AREA PSN 590215N 0060405E - 590108N 0060334E - 590012N 0061311E - 590122N 0061341E - (590215N 0060405E). MAX HGT 400FT AGL. CTC TEL +4796003103
F) GND G) 2400FT AMSL

A1854/26
0800-1100 1800-2100
DANGER AREA END542Z (E2Z) **ACTIVATED**. MIL ACTIVITY MAY OCCUR IN UNCONTROLLED AIRSPACE BELOW THE AREA
F) FL090 G) FL500

A1855/26
0800-1100 1800-2100
DANGER AREA END545Z (E5Z) **ACTIVATED**. MIL ACTIVITY MAY OCCUR IN UNCONTROLLED AIRSPACE BELOW THE AREA
F) FL090 G) FL500

A1861/26
0800-1100 1800-2100
MIL OPR AREA ENT121Z (E6Z) **ACTIVATED**. MIL ACTIVITY MAY OCCUR IN UNCONTROLLED AIRSPACE BELOW THE AREA.
F) FL175 G) FL500

A1859/26
0800-1100 1800-2100
MIL OPR AREA ENT119Z (D9Z) **ACTIVATED**. MIL ACTIVITY MAY OCCUR IN UNCONTROLLED AIRSPACE BELOW THE AREA.
F) FL150 G) FL500

A1860/26
0800-1100 1800-2100
MIL OPR AREA ENT120Z (E3Z) **ACTIVATED**. MIL ACTIVITY MAY OCCUR IN UNCONTROLLED AIRSPACE BELOW THE AREA.
F) FL150 G) FL500

A1864/26 VALID: 17-MAR-26 0800 - 17-MAR-26 1600
0800-1100 1300 -1600
MIL OPR AREA ENT722Z (B22Z) **ACTIVATED**. MIL ACTIVITY MAY OCCUR IN UNCONTROLLED AIRSPACE BELOW THE AREA.
F) FL200 G) FL300

A1839/26 VALID: 17-MAR-26 0700 - 17-MAR-26 1400
UNMANNED ACFT (VLOS/BLOS) WILL TAKE PLACE FOR POWER LINE INSPECTION
IN GRUE AREA PSN 601914N 0122938E - 602042N 0115156E - 602937N 0115136E - 603113N 0120550E - 602744N 0121638E - 603102N 0122326E - 603121N 0123517E - 602345N 0123537E - 602306N 0123502E - (601914N 0122938E), MAX HGT 400FT AGL. CTC ELVIA AS +47 95981155
F) GND G) 1800FT AMSL

A1840/26 VALID: 17-MAR-26 0700 - 17-MAR-26 1700
UNMANNED ACFT (VLOS/BLOS) WILL TAKE PLACE FOR POWER LINE INSPECTION
IN KONGSVINGER AREA PSN 601915N 0122940E - 601127N 0123201E - 600426N 0122749E - 595811N 0122012E - 600713N 0121548E - 600755N 0120807E - 600409N 0115449E - 602040N 0115204E -(601915N 0122940E). MAX HGT 400FT AGL. CTC ELVIA AS +47 92891880
F) GND G) 1900FT AMSL

A1842/26 VALID: 17-MAR-26 0700 - 17-MAR-26 1730
UNMANNED ACFT (BLOS) WILL TAKE PLACE FOR POWER LINE INSPECTION IN ROYKEN AREA PSN 594628N 0101832E - 594255N 0101929E - 594057N 0102511E - 594114N 0103124E - 594713N 0103118E - (594628N 0101832E). MAX HGT 400FT AGL. CTC TEL +47 96003103
F) GND G) 850FT AMSL

A1841/26 VALID: 17-MAR-26 0630 - 17-MAR-26 1600
DAILY 0630-1600
UNMANNED ACFT (BLOS) WILL TAKE PLACE FOR POWER LINE INSPECTION IN HAMAR - STANGE - LOTEN - RINGSAKER AREA PSN 603003N 0111401E - 603009N 0112220E - 603005N 0113217E - 605247N 0112703E - 611222N 0110422E - 605959N 0103321E - 605557N 0103955E - 604929N 0104212E - 604116N 0104559E - 604036N 0110618E - (603003N 0111401E), MAX HGT 400FT AGL. CTC TEL +47 95981016 ELVIA AS
F) GND G) 1700FT AMSL

A1812/26 VALID: 16-MAR-26 0800 - 17-MAR-26 1400
UNMANNED ACFT (BLOS) WILL TAKE PLACE ALDALEN - OEVSTEDALEN, BOLSTADOEYRI, PSN 604021N 0055756E - 603917N 0055906E - 603820N 0055719E - 603947N 0055248E - 604056N 0055432E - (604021N 0055756E). MAX HGT 400FT AGL. CTC TEL +4790956663.
F) GND G) 3547FT AMSL

A1743/26
DAILY 0730-1500
UNMANNED ACFT (VLOS/BLOS) WILL TAKE PLACE FOR POWER LINE INSPECTION IN TRYSIL AREA PSN 613128N 0123105E - 613716N 0120331E - 612355N 0113625E - 610355N 0115855E - 610326N 0123832E - 611811N 0123325E - 612155N 0124439E - (613128N 0123105E). MAX HGT 400FT AGL. CTC TEL +47 91318381
F) GND G) 2300FT AMSL

A1742/26
16 19 0700-1900, 20 0700-1430
MIL UNMANNED ACFT (BLOS/VLOS) WILL TAKE PLACE AT DOMBAAS AREA PSN: 620828N 0090917E - 620736N 0090540E - 620642N 0090444E - 620646N 0090025E - 620446N 0085914E - 620103N 0090054E - 620112N 0091126E - 620417N 0091138E - 620539N 0091302E - 620643N 0091043E - (620828N 0090917E). OPERATOR WILL MONITOR FREQ: 123.065 MHZ
F) GND G) 5000FT AMSL

A1799/26
DAILY 0700-1400
UNMANNED ACFT (BLOS) WILL TAKE PLACE FOR POWERLINE INSPECTION IN OSLO NORDMARKA PSN 600755N 0103609E - 600129N 0103118E - 595658N 0103726E - 595756N 0105016E - 600242N 0104948E - 600531N 0104535E - (600755N 0103609E) MAX HGT 400FT AGL. CTC 90673084 ESPEN ELVIA
F) GND G) 2034FT AMSL

A1800/26
DAILY 0700-1400
UNMANNED ACFT (BLOS) WILL TAKE PLACE FOR POWERLINE INSPECTION IN OSLO OSTMARKA PSN 595254N 0105254E - 595220N 0105026E - 594834N 0105101E - 594903N 0105652E - (595254N 0105254E) MAX HGT 400FT AGL. CTC 90673084 ESPEN ELVIA
F) GND G) 1050FT AMSL

A1531/26
DAILY 0400-1700
MIL UNMANNED ACFT (BLOS/VLOS) WILL TAKE PLACE AT GARSJOEN AREA PSN 700439N 0283940E - 700029N 0290435E - 695028N 0291955E - 694244N 0290553E - 695309N 0282129E - (700439N 0283940E). OPR WILL MONITOR FREQ 120.355MHZ
F) GND G) 2500FT AMSL

A1715/26
13 16-20 0700-1500
UNMANNED ACFT (BLOS) WILL TAKE PLACE IN RAUMA- VESTNES AREA FOR POWERLINE INSPECTION PSN: 623738N 0071351E - 623732N 0072132E - 624031N 0073026E - 624304N 0074350E - 623402N 0080244E - 622952N 0075834E - 621939N 0081135E - 621418N 0080259E - 622317N 0075441E - 622550N 0072613E - (623738N 0071351E). MAX HGT 400FT AGL. CTC TEL +47 40416743
F) GND G) 1800FT AMSL

A1532/26
DAILY 0400-1700
MIL UNMANNED ACFT (BLOS/VLOS) WILL TAKE PLACE AT VARANGERBOTN AREA PSN 695409N 0281813E - 700016N 0282944E - 700938N 0283158E - 701140N 0280834E - 700326N 0275954E - (695409N 0281813E). OPR WILL MONITOR FREQ 180.355MHZ
F) GND G) 3500FT AMSL

A0896/26
TEMPO **DANGER** AREA 'AAKSJOEN' **ACTIVATED** DUE UNMANNED ACFT (BLOS/VLOS) PSN: 635833N 0115519E - 635957N 0114504E - 635432N 0114541E - 635429N 0115538E - (635822N 0115519E). REAL TIME ACTIVATION BY POLARIS ACC, 30 MIN NOTICE. OPERATOR WILL MONITOR FREQ 118.605 MHZ
F) GND G) 4000FT AMSL

A0897/26
TEMPO **DANGER** AREA 'GAULSTAD' **ACTIVATED** DUE UNMANNED ACFT (BLOS/VLOS) PSN 640400N 0120000E - 640635N 0122019E - 635725N 0121605E - 635638N 0115924E - (640400N 0120000E). REALTIME ACTIVATION BY POLARIS ACC, 30 MIN NOTICE. OPERATOR WILL MONITOR FREQ 123.065MHZ
F) GND G) 5000FT AMSL

A0902/26
DANGER AREA EN D365 'GISKAAS' **ACTIVATED** DUE UNMANNED ACFT (BLOS/VLOS)
OPERATOR WILL MONITOR FREQ: 118.555 MHZ.REALTIME ACTIVATION BY POLARIS ACC 30 MIN PRIOR
F) GND G) 6000FT AMSL

A1623/26
DAILY 0600-1600
UNMANNED ACFT (BLOS) WILL TAKE PLACE IN SKJELINGAVATNET AREA PSN 605400N 0063000E - 605900N 0063400E - 610000N 0063000E - 605700N 0062300E - 605500N 0062200E - (605400N 0063000E), MAX HGT 400FT AGL. CTC TEL +47 97619357
F) GND G) 4900FT AMSL

A1661/26
TEMPO RESTRICED AREA ENR466 CORE26 EAST **ACTIVATED** PSN 683212N 0180734E - 690008N 0182218E - 685500N 0190500E - 690500N 0191500E - 691027N 0183108E - 692715N 0184204E - 692615N 0190300E - 695400N 0193000E - 695555N 0190819E - 702240N 0193448E - 703031N 0202538E - 702203N 0205338E - 701357N 0212102E - 700500N 0215036E - 694730N 0221142E - 694605N 0211058E - 700030N 0212400E - 700230N 0205400E - 695000N 0204400E - 694531N 0205017E - 694455N 0203000E - 694359N 0200000E - 692700N 0200000E - 690937N 0192505E - 690300N 0200000E - 690244N 0200336E - ALONG THE BORDER BETWEEN NORWAY AND SWEDEN - (683212N 0180734E).
NO FLYING PERMITTED UNLESS APPROVED BY CAOC BD.
DETAILS **AVBL** IN AIP AIRAC SUP 08/2026
F) GND G) 4500FT AMSL

A1660/26
TEMPO RESTRICED AREA ENR 465 CORE26 NORTHEAST **ACTIVATED** PSN 694359N 0200000E - 694455N 0203000E - 694531N 0205017E - 694500N 0205100E - 694330N 0210000E - 694500N 0211000E - 694605N 0211058E - 694730N 0221142E - 694307N 0221653E - 692835N 0220955E - 692438N 0214040E - 692342N 0211606E - 692123N 0211242E - 691654N 0211043E - 690336N 0203255E - 690243N 0200335E - 690300N 0200000E - 690937N 0192505E - 692700N 0200000E - (694359N 0200000E. ALSO ALONG THE BORDER BETWEEN NORWAY AND FINLAND AND NORWAY AND SWEEDEN.
NO FLYING PERMITTED UNLESS APPROVED BY CAOC BD. DETAILS **AVBL** IN AIP AIRAC SUP 08/2026
F) GND G) 6500FT AMSL

A1653/26
TEMPO RESTRICED AREA ENR468 CORE26 SOUTH **ACTIVATED** PSN 675451N 0164417E - 680305N 0160301E - 681456N 0155044E - 682215N 0160859E - 682200N 0161500E - 682058N 0163656E - 682200N 0165000E - 682624N 0165611E - 682852N 0165611E - 683341N 0165000E - 684400N 0165000E - 692600N 0164000E - 693050N 0165353E - 692000N 0171000E - 690500N 0165800E - 685400N 0170000E - 683800N 0172800E - 683300N 0175100E - 683212N 0180734E - ALONG THE BORDER BETWEEN NORWAY AND SWEDEN - (675451N 0164417E)
NO FLYING PERMITTED UNLESS APPROVED BY CAOC BD.
DETAILS **AVBL** IN AIP AIRAC SUP 08/2026
F) GND G) 2500FT AMSL

A1645/26
TEMPO RESTRICED AREA ENR467 CORE26 WEST **ACTIVATED** PSN 701500N 0184500E - 694000N 0172000E - 693050N 0165353E - 692000N 0171000E - 690500N 0165800E - 685400N 0170000E - 683800N 0172800E - 683300N 0175100E - 683212N 0180734E - 690008N 0182218E - 690500N 0174000E - 691500N 0175300E - 691027N 0183108E - 692715N 0184204E - 692800N 0182600E - 695800N 0184400E - 695555N 0190819E - 702240N 0193448E - 701815N 0190648E - (701500N 0184500E). NO FLYING PERMITTED UNLESS APPROVED BY CAOC BD. DETAILS **AVBL** IN AIP AIRAC SUP 08/2026
F) GND G) 4500FT AMSL

A1193/26
10-20 0000-2359, 23-26 0000-2359
DANGER AREA END365 'GISKAAS' **ACTIVATED**
F) GND G) FL130

A1542/26
DAILY 1300-1600
MIL OPR AREA ENT123Z (G2Z) **ACTIVATED**. MIL ACTIVITY MAY OCCUR IN UNCONTROLLED AIRSPACE BELOW THE AREA.
F) FL130 G) FL520

A1543/26
DAILY 1300-1600
MIL OPR AREA ENT124Z (G4Z) **ACTIVATED**. MIL ACTIVITY MAY OCCUR IN UNCONTROLLED AIRSPACE BELOW THE AREA.
F) FL130 G) FL520

A1544/26
DAILY 1300-1600
MIL OPR AREA ENT125Z (G5Z) **ACTIVATED**. MIL ACTIVITY MAY OCCUR IN UNCONTROLLED AIRSPACE BELOW THE AREA.
F) FL130 G) FL520

A1546/26
DAILY 1300-1600
MIL OPR AREA ENT127Z (G7Z) **ACTIVATED**. MIL ACTIVITY MAY OCCUR IN UNCONTROLLED AIRSPACE BELOW THE AREA.
F) FL130 G) FL520

A1545/26
DAILY 1300-1600
MIL OPR AREA ENT126Z (G6Z) **ACTIVATED**. MIL ACTIVITY MAY OCCUR IN UNCONTROLLED AIRSPACE BELOW THE AREA.
F) FL130 G) FL520

A1547/26
DAILY 1300-1600
MIL OPR AREA ENT128Z (G8Z) **ACTIVATED**. MIL ACTIVITY MAY OCCUR IN UNCONTROLLED AIRSPACE BELOW THE AREA.
F) FL130 G) FL520

A1548/26
DAILY 1300-1600
MIL OPR AREA ENT710Z (A25Z) **ACTIVATED**. MIL ACTIVITY MAY OCCUR IN UNCONTROLLED AIRSPACE BELOW THE AREA.
F) FL130 G) FL520

A1549/26
DAILY 1300-1600
MIL OPR AREA ENT712Z (A27Z) **ACTIVATED**. MIL ACTIVITY MAY OCCUR IN UNCONTROLLED AIRSPACE BELOW THE AREA.
F) FL130 G) FL520

A1550/26
DAILY 1300-1600
MIL OPR AREA ENT713Z (A31Z) **ACTIVATED**. MIL ACTIVITY MAY OCCUR IN UNCONTROLLED AIRSPACE BELOW THE AREA.
F) FL130 G) FL520

A1552/26
DAILY 1300-1600
MIL OPR AREA ENT715Z (A33Z) **ACTIVATED**. MIL ACTIVITY MAY OCCUR IN UNCONTROLLED AIRSPACE BELOW THE AREA.
F) FL130 G) FL520

A1551/26
DAILY 1300-1600
MIL OPR AREA ENT714Z (A32Z) **ACTIVATED**. MIL ACTIVITY MAY OCCUR IN UNCONTROLLED AIRSPACE BELOW THE AREA.
F) FL130 G) FL520

A1553/26
DAILY 1300-1600
MIL OPR AREA ENT731Z (B31Z) **ACTIVATED**. MIL ACTIVITY MAY OCCUR IN UNCONTROLLED AIRSPACE BELOW THE AREA.
F) FL130 G) FL520

A1554/26
DAILY 1300-1600
MIL OPR AREA ENT716Z (A34Z) **ACTIVATED**. MIL ACTIVITY MAY OCCUR IN UNCONTROLLED AIRSPACE BELOW THE AREA.
F) FL130 G) FL520

A1555/26
DAILY 1300-1600
MIL OPR AREA ENT717Z (A35Z) **ACTIVATED**. MIL ACTIVITY MAY OCCUR IN UNCONTROLLED AIRSPACE BELOW THE AREA.
F) FL130 G) FL520

A1556/26
DAILY 1300-1600
MIL OPR AREA ENT732Z (B32Z) **ACTIVATED**. MIL ACTIVITY MAY OCCUR IN UNCONTROLLED AIRSPACE BELOW THE AREA.
F) FL130 G) FL520

A1331/26
DAILY 0700-1600
UNMANNED ACFT (BLOS) WILL TAKE PLACE IN GRASDALEN AREA PSN 615900N 0071800E, RADIUS 3NM, MAX HGT 400FT AGL. CTC TEL +47 97619357 F) GND G) 5000FT AMSL

A1344/26
MODEL ACFT ACTIVITY WILL TAKE PLACE AT UDDUVOLL MODEL AIRFIELD, PSN 631908N 0101623E, RADIUS 2NM, MAX HGT 2500FT AGL. CTC TEL +47 92843311
F) GND G) 2500FT AMSL

A0990/26
DANGER AREA EN D156 'HENGSVANN' **ACTIVATED**
F) GND G) 6000FT AMSL

A1231/26
MON-FRI 0700-1800
UNMANNED ACFT (BLOS) WILL TAKE PLACE BYNESET, PSN 632416N 0100719E,
RADIUS 1NM. MAX HGT 400 FT AGL. CTC TEL +47 97497815
F) GND G) 1500FT AMSL

A1228/26
TEMPO **DANGER** AREA 'DRAMMEN HAVN' **ACTIVATED** DUE UNMANNED ACFT PSN 594426N 0101436E - 594353N 0101437E - 594353N 0101345E - 594414N 0101250E - 594422N 0101250E - (594426N 0101436E). MAX HGT 400FT AGL. FOR REAL TIME STATUS CTC INOTEK AS TEL +47 40300999
F) GND G) 415FT AMSL

A1025/26
DAILY 0800-1400
UNMANNED ACFT (BLOS) WILL TAKE PLACE IN IN GROMSTULSKOGEN AREA PSN 5916N 00931E, RADIUS 1NM, MAX HGT 295FT AGL. CTC TEL +47 46944697
F) GND G) 781FT AMSL

A0471/26
TRIGGER NOTAM AIP AIRAC SUP 08/2026 WEF 19 FEB 2026.
MIL EXERCISE COLD RESPONSE 2026 IN THE PERIOD 05 MAR - 20 MAR.
EXERCISE AREAS INCLUDING FOUR NEW TEMPO RESTRICTED AREAS, EXERCISE SCHEDULE AND RESTRICTIONS.
FLIGHT PLANNING PROCEDURES AND GUIDELINES FOR NON-PARTICIPATING TRAFFIC.
FOR DETAILS SUP **AVBL** AT WWW.AVINOR.NO/AIS
F) GND G) UNL

A0515/26
ADD DESIGNATOR ENNPZ1 TO AIRSPACE GUBAV NPZ. REF AIP AIRAC SUP 08/2026 ATTACHMENT 3
F) FL125 G) FL520

A0983/26
UNMANNED ACFT (BLOS) WILL TAKE PLACE IN SILJAN AREA NEAR POWERLINES PSN 592045N 0093740E - 592140N 0094413E - 592015N 0095039E - 591618N 0095406E - 591147N 0094925E - 591616N 0094328E - (592045N 0093740E). MAX HGT 215FT AGL, CTC TEL +47 95012337
F) GND G) 2224FT AMSL

A0446/26
MON-SAT 0700-1400
UNMANNED ACFT (BLOS) WILL TAKE PLACE IN MANDALSKRYSSET - BLOERSTAD PSN 580428N 0073226E - 580618N 0072208E - 580427N 0071943E - 580346N 0072040E - 580440N 0072336E - 580337N 0072900E - 580330N 0073229E - (580428N 0073226E), MAX HGT 400FT AGL. CTC +47 47670519 F) GND G) 820FT AMSL

A0295/26
DAILY 0600-1800
TEMPO RESTRICTED AREA ESTABLISHED 'ENR138 LOMMEDALEN' PSN 595617N 0103009E - 595714N 0103109E - 595824N 0103122E - 595933N 0103047E - 600000N 0102957E - 595949N 0102655E - 595905N 0102634E - 595753N 0102646E - 595616N 0102852E - (595617N 0103009E). MAX HGT 500FT AGL/1520FT AMSL. ALL FLYING PROHIBITED EXC WITH APPROVAL FROM UMAR(AT)AIRDODGE.IO TEL +4740303078 OR FLYING UNDER THE TREATY OF OPEN SKIES. HOSP/SAR/POLICE/MIL EXEMPTED
F) GND G) 1520FT AMSL

A0046/26
DAILY 1000-1700
UNMANNED ACFT (VLOS/BLOS) WILL TAKE PLACE IN LANGANGEN - BREVIK AREA PSN 590239N 0093833E - 590619N 0093852E - 590733N 0094217E - 590527N 0094915E - 590506N 0094850E - 590651N 0094245E - 590546N 0094112E - 590240N 0094051E - (590239N 0093833E). MAX HGT 400FT AGL. CTC TEL (+47) 458 78 523
F) GND G) 1150FT AMSL

A0045/26
MON-FRI 0700-1800
UNMANNED ACFT (VLOS/BLOS) WILL TAKE PLACE IN FORNEBU AREA PSN 595333N 0103726E, RADIUS 0.2NM, MAX HGT 400FT AGL. CTC TEL (+47) 901 11 603
F) GND G) 440FT AMSL

A0010/26
DAILY 0600-1900
UNMANNED ACFT (BLOS) WILL TAKE PLACE IN NESVATNET AREA PSN 633931N 0110517E - 633903N 0110423E - 633849N 0110452E - 633919N 0110609E - (633931N 0110517E). MAX HGT 280FT AGL. CTC +47 47670519
F) GND G) 400FT AMSL

A8297/25
RESTRICTED AREA ENR123 CHEMRING NOBEL ESTABLISHED, PSN 594106N 0103158E - 594109N 0103219E - 594055N 0103256E - 594030N 0103339E - 594025N 0103307E - 594045N 0103210E - (594106N 0103158E). ALL FLYING PROHIBITED, INCLUDING UNMANNED ACFT.
HOSP/MIL/SAR/POLICE/FIRE EXEMPTED
F) GND G) 1500FT AMSL

EXTENDED AREA AROUND DESTINATION ALTERNATE AIRPORT(S)

ENOR NORWAY FIR

Please see section EXTENDED AREA AROUND DESTINATION

AREA ENROUTE DEPARTURE - DESTINATION

ENOR NORWAY FIR

Please see section EXTENDED AREA AROUND DESTINATION

[Company NOTAM]

==========

CREW ALERT

==========

SB007/14

SUBJECT: AUTO COST INDEXES
WHEN PLANNING A COST INDEX, 2 OPTIONS ARE AVAILABLE. PILOTS MAY EITHER SELECT A SPECIFIC COST INDEX NUMBER FROM THE LIST, OR THEY MAY SELECT "AUTO". WHEN PLANNING AN "AUTO" COST INDEX, THE SYSTEM WILL REFERENCE THE SCHEDULED "TIME ENROUTE" OPTION AND ATTEMPT TO CHOOSE A COST INDEX WHICH CLOSELY MATCHES THIS VALUE. NOTE THAT THE "TIME ENROUTE" OPTION IS MEANT AS A GATE TO GATE TIME (AS INDICATED ON AN AIRLINE'S FLIGHT SCHEDULE, FOR EXAMPLE). IF A "TIME ENROUTE" OF 2:30 IS SELECTED, THE SYSTEM WILL SUBTRACT THE TAXI TIMES FROM THIS VALUE TO DETERMINE THE SCHEDULED AIR TIME. IT WILL THEN DETERMINE AND USE THE COST INDEX WHICH MATCHES THIS AIR TIME.

SB003/13

SUBJECT: FLIGHT RELEASE UNITS
ALL FLIGHT CREW: PLEASE PAY SPECIAL ATTENTION TO THE UNITS SELECTION WHEN GENERATING A FLIGHT PLAN. FAILURE TO IDENTIFY THE CORRECT UNITS WHEN REFUELING PRIOR TO FLIGHT CAN RESULT IN DEPARTING WITH INSUFFICIENT FUEL AND/OR AN ERRONEOUS PAYLOAD.

==========

CREW BULLETIN

==========

NIL

========== END OF LIDO-NOTAM-BULLETIN ==========

8.0E
10.0E
12.0E
14.0E
16.0E
18.0E
20.0E
62.0N
61.0N
60.0N
59.0N
58.0N
ENGM
ESSA
Flight: AY1003
Dep / Dest: ARN / OSL

SIG WX FL 100-450 WASHINGTON 1 400 160
VALID 12 UTC ON 17.Mar.2026

Flight: AY1003 Dep / Dest: ARN / OSL

SIG WX FL 250-630 WASHINGTON 1 400
VALID 12 UTC ON 17.Mar.2026 XXX

Flight: AY1003 Dep / Dest: ARN / OSL

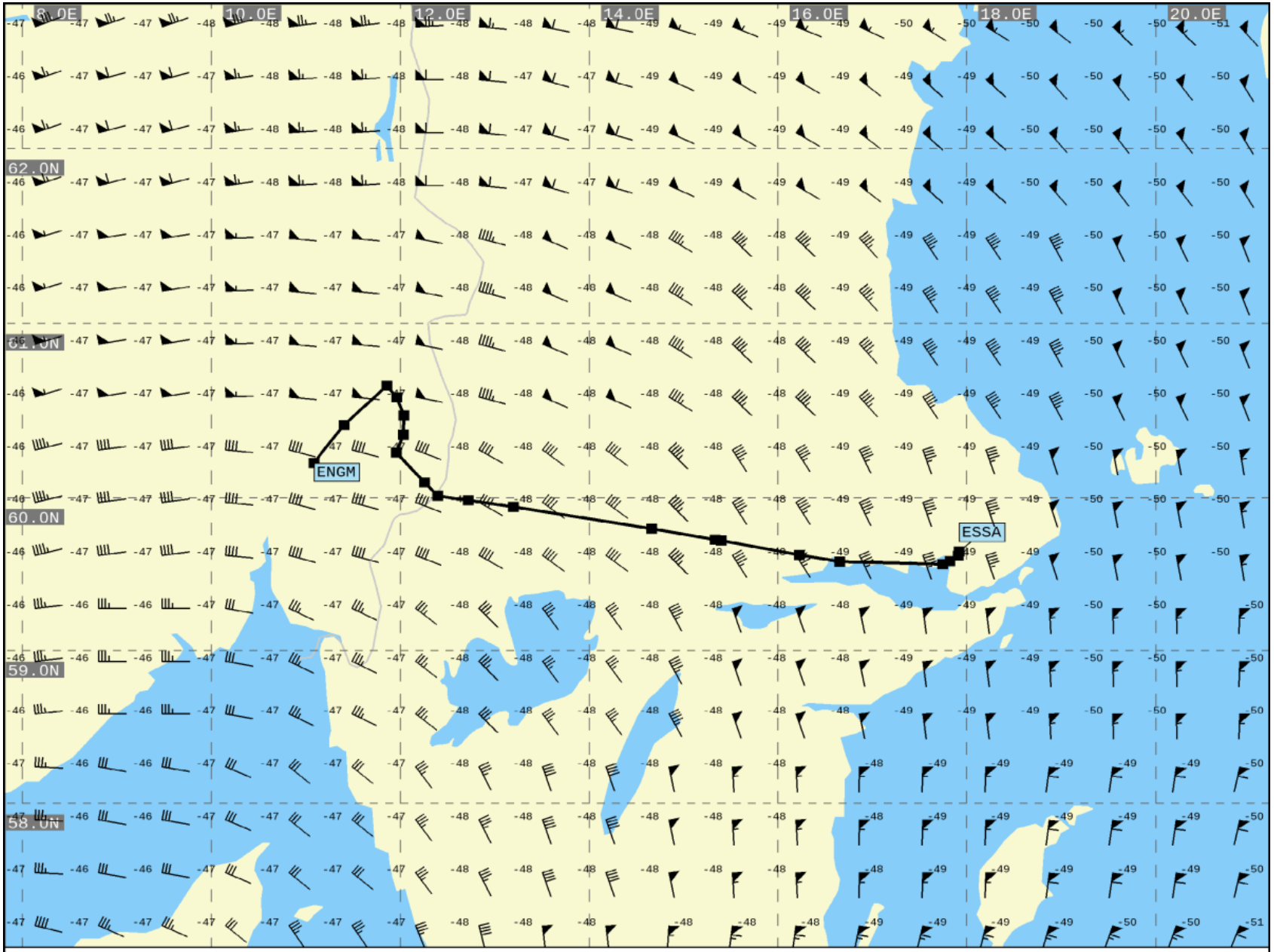

UAD VALID 18 UTC ON 17.Mar.2026 06h FL 300

Flight: AY1003 Dep / Dest: ARN / OSL

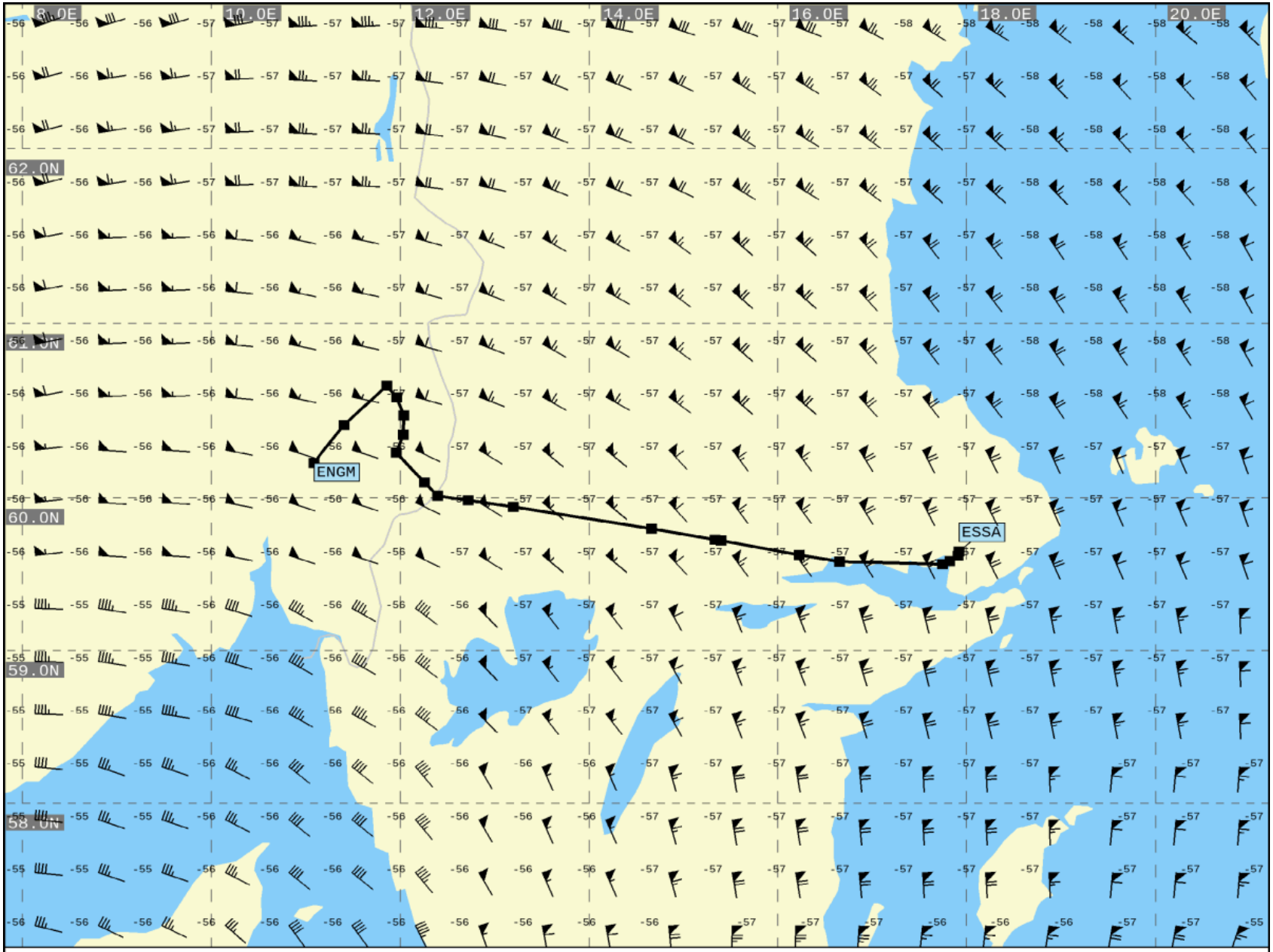

UAD VALID 18 UTC ON 17.Mar.2026 06h FL 340

Flight: AY1003 Dep / Dest: ARN / OSL

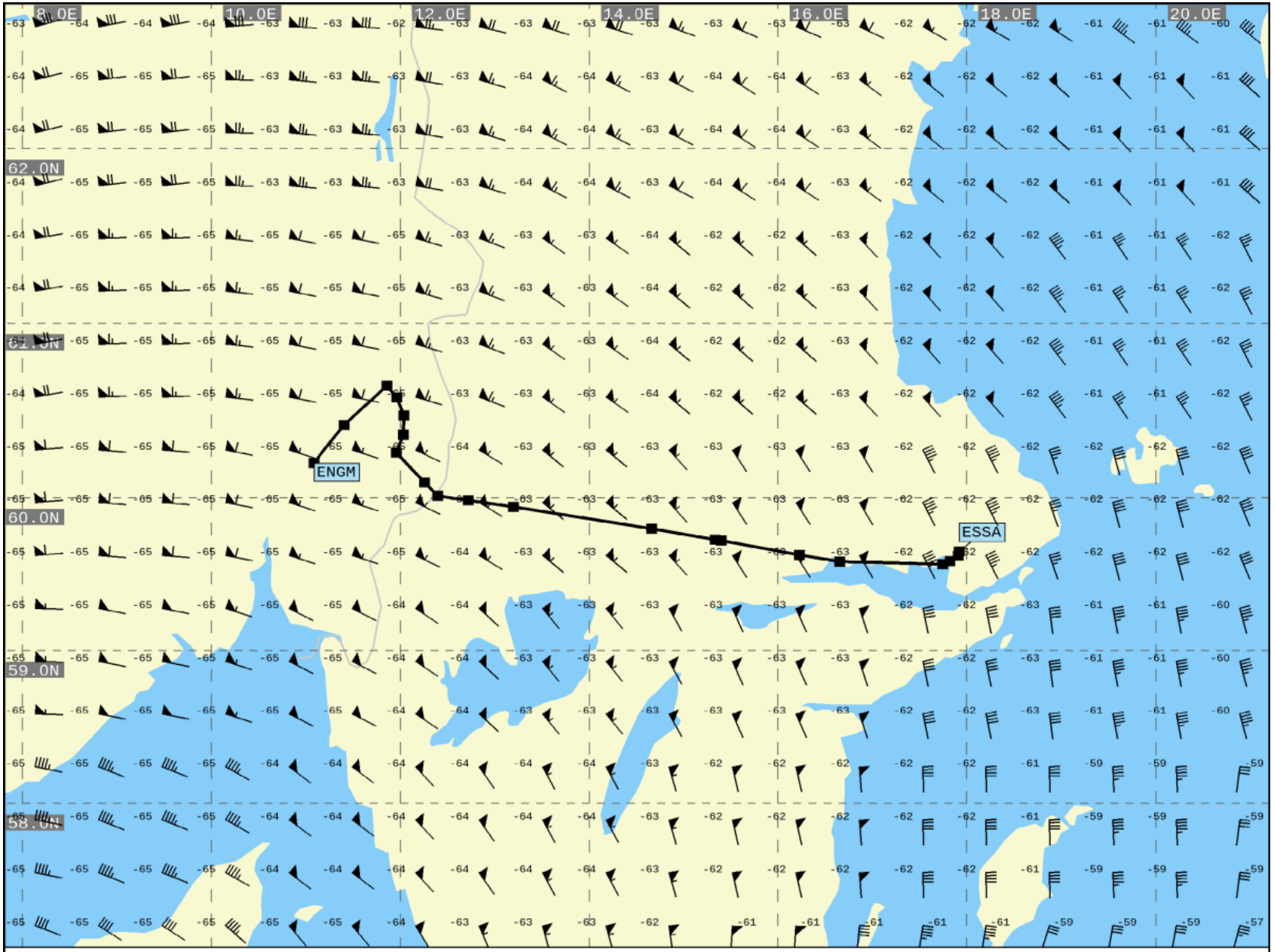

UAD VALID 18 UTC ON 17.Mar.2026 06h FL 390

Flight: AY1003 Dep / Dest: ARN / OSL

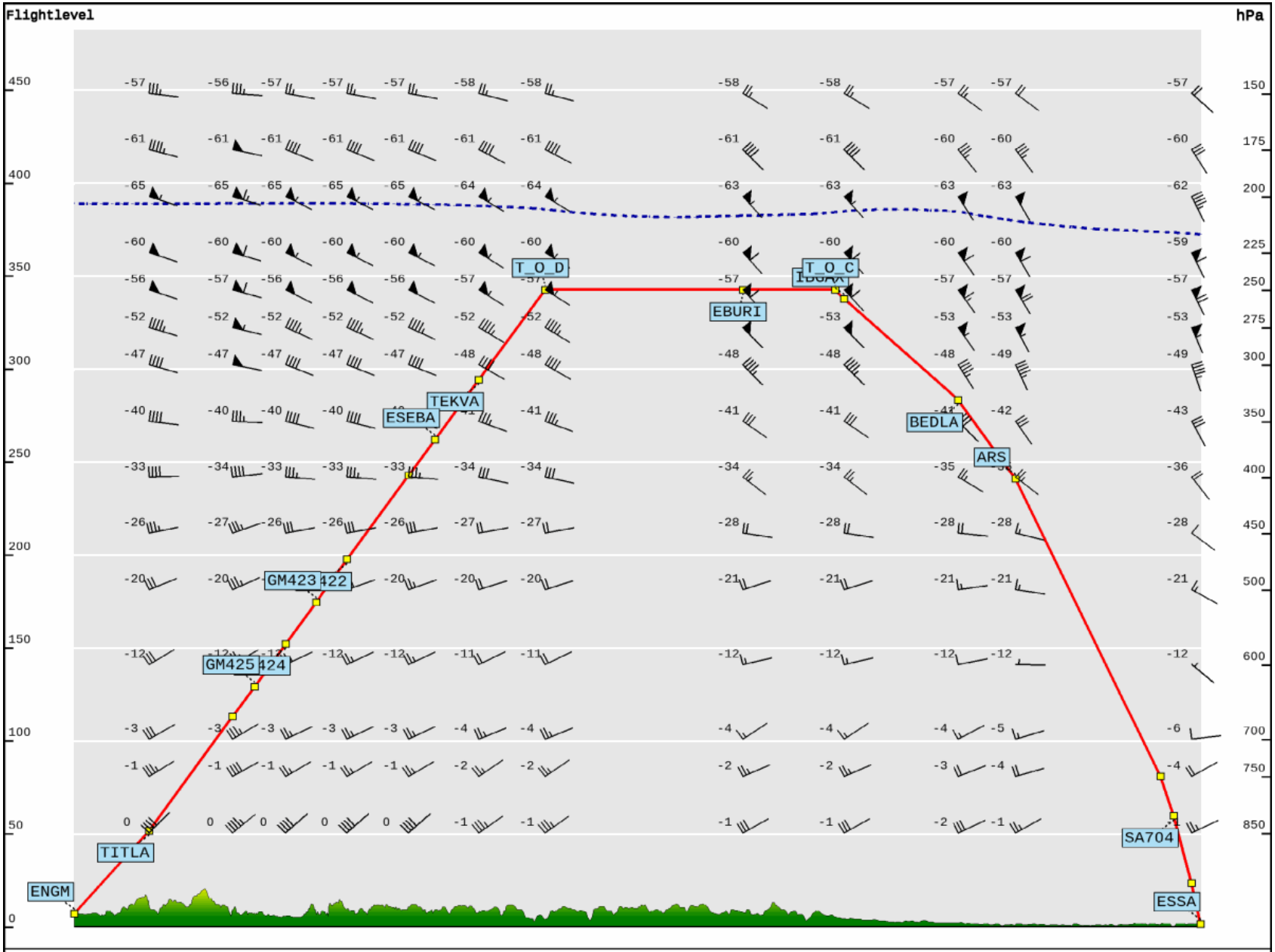

Profile VALID 18 UTC ON 17.Mar.2026 06h Average

Flight: AY1003 Dep / Dest: ARN / OSL

End of Document: Total Number of Pages: 32