[OFP]

```
---------------------------------------------------------------------
FIN1008   22MAR2026    LEMD-LFPG   A333 N339SB  RELEASE 1029 22MAR26
OFP 1  ADOLFO SUAREZ MADRID-CHARLES-DE-GAULLE
                        WX PROG 2209 2212 2215   OBS 2206 2206 2206

  ATC C/S   FIN1008      LEMD/MAD   LFPG/CDG      CRZ SYS      CI 89
22MAR2026   N339SB       1100/1120  1256/1304     GND DIST       611
A330-300 / TRENT 772                STA  1300     AIR DIST       676
                        CTOT:....                G/C DIST       575
                                                 AVG WIND   011/043
MAXIMUM    TOW 233000  LAW 187000  ZFW 175000    AVG W/C       M040
ESTIMATED  TOW 170171  LAW 161143  ZFW 155158    AVG ISA       M000
                                                 AVG FF KGS/HR 5605
                                                 FUEL BIAS    P00.0
ALTN LFOK                                        TKOF ALTN  .......
FL STEPS LEMD/0340/POI/0300
---------------------------------------------------------------------
DISP RMKS   NIL

---------------------------------------------------------------------
         PLANNED FUEL
---------------------------------
FUEL           ARPT   FUEL   TIME
---------------------------------
TRIP            CDG   9028   0136
CONT 15 MIN           1401   0015
ALTN            XCR   2448   0031
FINRES                2136   0030
---------------------------------
MINIMUM T/OFF FUEL   15013   0252
---------------------------------
EXTRA                    0   0000
---------------------------------
T/OFF FUEL           15013   0252
TAXI            MAD    544   0020
---------------------------------
BLOCK FUEL      MAD  15557
PIC EXTRA            .....
TOTAL FUEL           .....
REASON FOR PIC EXTRA ............
---------------------------------------------------------------------
FMC INFO:
FINRES+ALTN           4584
TRIP+TAXI             9572
---------------------------------------------------------------------
NO TANKERING RECOMMENDED (P)
---------------------------------------------------------------------
I HEREWITH CONFIRM THAT I HAVE PERFORMED A THOROUGH SELF BRIEFING
ABOUT THE DESTINATION AND ALTERNATE AIRPORTS OF THIS FLIGHT
INCLUDING THE APPLICABLE INSTRUMENT APPROACH PROCEDURES, AIRPORT
FACILITIES, NOTAMS AND ALL OTHER RELEVANT PARTICULAR INFORMATION.

DISPATCHER: MARCIA WIGGINS              PIC NAME: GM, PAYAM

TEL: +1 800 555 0199               PIC SIGNATURE: ...............
```

```
ALTERNATE ROUTE TO:                                          FINRES   2136
APT      TRK DST              VIA                   FL  WC  TIME  FUEL
----------------------------------------------------------------------
LFOK/10  101 104  DIKOL6G DIKOL DIKOL2S           110 M017 0031  2448
----------------------------------------------------------------------

MEL/CDL ITEMS DESCRIPTION
------------- -----------

----------------------------------------------------------------------

ROUTING:

ROUTE ID: DEFRTE
LEMD/36L RBO4N RBO DCT OSTIX DCT GASMO DCT DGO DCT CEGAM DCT BAGAS
DCT SSN DCT LUSEM DCT LULUT DCT POI DCT PEPAX UT182 KEPER KEPER9W
LFPG/09L

----------------------------------------------------------------------
DEPARTURE ATC CLEARANCE:
.
.
.
----------------------------------------------------------------------
                         OPERATIONAL IMPACTS
                         -------------------
WEIGHT CHANGE UP 1.0          TRIP  P 0029 KGS   TIME M 0000
WEIGHT CHANGE DN 1.0          TRIP  M 0042 KGS   TIME M 0000
FL CHANGE     UP FL1          TRIP  M 0151 KGS   TIME M 0000
FL CHANGE     DN FL1          TRIP  P 0222 KGS   TIME M 0000
FL CHANGE     DN FL2          TRIP  P 0453 KGS   TIME M 0000
SPD CHANGE    CI 0            TRIP  M 0198 KGS   TIME P 0007
SPD CHANGE    CI 300          TRIP  P 0370 KGS   TIME M 0001
----------------------------------------------------------------------
```

```
-----------------------------------------------------------------------
ATIS:
.
.
--------- --------- --------- --------- --------- --------- --------
RVSM: ALT SYS  LEFT:             STBY:             RIGHT:

--------- --------- --------- --------- --------- --------- --------
-----------------------------------------------------------------------
                                TIMES
                                -----

               ESTIMATED        SKED              ACTUAL

OUT            1100Z/1200L      1100Z/1200L       ......Z

OFF            1120Z/1220L      1120Z/1220L       ......Z

ON             1256Z/1356L      1252Z/1352L       ......Z

IN             1304Z/1404L      1300Z/1400L       ......Z

BLOCK TIME     0204             0200              ......

-----------------------------------------------------------------------
                               WEIGHTS
                               -------

                EST      MAX     ACTUAL

PAX             267              ......

BAG/CARGO       6.7              ......

PAYLOAD        27.9              ......

ZFW           155.2    175.0     ......

FUEL           15.6     41.4     ......  POSS EXTRA 25.9

TOW           170.2    196.0  LDG......

STAB TRIM                        ......

LAW           161.1    187.0     ......

-----------------------------------------------------------------------
                       TERRAIN CLEARANCE CHECK
                       -----------------------
DD CHECK - TERRAIN CLEARANCE CHECK DISABLED

DP CHECK - TERRAIN CLEARANCE CHECK DISABLED
-----------------------------------------------------------------------
```

FLIGHT LOG

MOST CRITICAL MORA 09400 FEET AT GASMO///MXSHR 01 AT TOC

AWY POSITION IDENT FREQ	LAT LONG	EET TTLT	ETO ATO	FL MORA DIS	IMT ITT RDIS	MN TAS GS	WIND COMP SHR	OAT TDV TRP	EFOB AFOB	PBRN ABRN
					352				15.0	0.5
ADOLFO SUAR	N4028.3		...	46	351		M006			
LEMD	W00333.6	0000	...		611	269			....	....
RBO4N				063	015	.42	000/006	03	14.3	1.2
S.S.REYES	N4032.8	0002	...	50	015		M006	P01		
SSY	W00334.5	0002	...	5	606	269		391	....	....
117.85										
RBO4N				109	003	.55	007/008	M04	14.0	1.6
MD901	N4038.2	0001	...	49	003		M008	P03		
MD901	W00332.6	0003	...	6	600	348		391	....	....
RBO4N				130	055	.57	002/010	M08	13.8	1.8
MD902	N4042.2	0001	...	58	055		M010	P03		
MD902	W00332.2	0004	...	4	596	358		391	....	....
RBO4N				203	009	.67	049/016	M24	13.1	2.4
ROBLEDILLO	N4051.2	0003	...	87	009		M016	P02		
RBO	W00314.8	0007	...	16	580	398		392	....	....
113.95										
DCT				314	009	.80	048/031	M48	12.1	3.4
OSTIX	N4130.3	0006	...	62	009		M024	P00		
OSTIX	W00306.0	0013	...	40	540	444		400	....	....
DCT				340	010	.80	045/032	M53	11.9	3.6
T O C	N4143.1	0001	...	59	009	463	M026	P00		
	W00303.1	0014	...	13	527	437	1	400	....	....
DCT				340	009	.82	044/032	M53	11.9	3.6
GASMO	N4143.8	0001	...	94	009	474	M027	P00		
GASMO	W00302.9	0015	...	1	526	447	1	400	....	....
DCT				340	041	.82	044/032	M53	11.4	4.2
DOMINGO	N4227.2	0005	...	70	041	474	M027	P00		
DGO	W00252.8	0020	...	44	482	447	1	400	....	....
112.60										
DCT				340	041	.82	015/037	M54	10.9	4.7
CEGAM	N4259.0	0006	...	66	042	473	M034	M01		
CEGAM	W00214.2	0026	...	43	439	439	1	400	....	....
DCT				340	041	.82	014/037	M54	10.8	4.8
BAGAS	N4305.9	0002	...	52	042	473	M033	M01		
BAGAS	W00205.7	0028	...	9	430	440	1	400	....	....

```
AWY                                FL   IMT   MN    WIND  OAT  EFOB  PBRN
POSITION    LAT       EET ETO MORA  ITT  TAS    COMP  TDV
IDENT       LONG     TTLT ATO DIS  RDIS   GS     SHR  TRP  AFOB  ABRN
FREQ
-----------------------------------------------------------------------
DCT                               340   029  .82 014/037  M54  10.6   5.0
SAN SEBASTI N4318.7 0002 ...  37   029  473    M033  M01
SSN        W00149.8 0030 ...  17   413  440       1  400  ....  ....
117.90

DCT                               340   032  .82 014/037  M54  10.5   5.1
LUSEM       N4322.5 0000 ...  25   033  473    M036  M01
LUSEM      W00146.8 0030 ...   4   409  437       1  400  ....  ....

FRANCE FIR/UIR
-LFFF       N4322.2 0000 ...
           W00147.0 0030 ...   0   409

DCT                               340   018  .82 356/040  M54   9.6   5.9
LULUT       N4423.9 0011 ...  26   019  473    M033  M01
LULUT      W00050.4 0041 ...  74   335  440       1  399  ....  ....

DCT                               340   010  .82 001/048  M54   7.9   7.7
POITIERS BI N4634.9 0019 ...  26   011  474    M046  M01
POI        E00017.9 0100 ... 140   195  428       1  402  ....  ....
113.30

DCT                               300   349  .81 008/064  M45   7.6   8.0
PEPAX       N4704.9 0005 ...  24   350  474    M064  P00
PEPAX      E00027.2 0105 ...  31   164  410       1  396  ....  ....

UT182                             300   349  .81 008/064  M45   7.2   8.3
NIMER       N4728.4 0003 ...  26   350  474    M061  P00
NIMER      E00021.4 0108 ...  24   140  413       1  396  ....  ....

UT182                             300   034  .81 008/064  M45   7.0   8.6
KEPER       N4748.4 0003 ...  26   034  474    M061  P00
KEPER      E00016.4 0111 ...  20   120  413       0  402  ....  ....

KEPER9W                           300   034  .80 008/064  M45   6.8   8.7
LUMAN       N4756.4 0002 ...  28   035  474    M058  P00
LUMAN      E00024.8 0113 ...  10   110  416       0  402  ....  ....

KEPER9W                           300   035  .80 008/068  M45   6.5   9.0
T O D       N4812.7 0003 ...  30   035  474    M062  P00
           E00042.0 0116 ...  20    90  412       1  385  ....  ....

KEPER9W                           266   061  .77 009/070  M37   6.5   9.1
ROMGO       N4820.8 0001 ...  30   062         M064  P01
ROMGO      E00050.6 0117 ...  10    80  398          385  ....  ....

KEPER9W                           239   061  .72 010/070  M31   6.5   9.1
FF501       N4824.7 0002 ...  30   062         M047  P02
FF501      E00102.0 0119 ...   8    72  394          385  ....  ....

KEPER9W                           194   061  .66 021/058  M22   6.4   9.1
NERKI       N4830.8 0003 ...  28   062         M046  P02
NERKI      E00119.6 0122 ...  13    59  362          384  ....  ....
```

```
AWY                              FL   IMT   MN    WIND  OAT  EFOB  PBRN
POSITION    LAT      EET ETO MORA  ITT  TAS    COMP  TDV
IDENT       LONG    TTLT ATO DIS  RDIS   GS     SHR  TRP  AFOB  ABRN
FREQ
-----------------------------------------------------------------------
KEPER9W                         167   056  .62 042/035  M17   6.4   9.2
BANOX       N4834.5 0001 ...  26   057         M033  P01
BANOX      E00130.3 0123 ...   8    51  357          389  ....  ....

KEPER9W                                                   6.0   9.6
CHARLES-DE- N4900.6 0013 ...
LFPG       E00232.9 0136 ...  51                        ....  ....
```

WIND INFORMATION

CLIMB	T O C	GASMO	DGO
350 046/033 -55	380 045/034 -60	380 045/034 -60	380 045/034 -60
310 049/031 -47	360 045/033 -56	360 045/033 -56	360 044/033 -56
200 047/015 -23	340 044/032 -53	340 044/032 -53	340 043/031 -53
150 010/011 -12	320 046/031 -49	320 046/031 -49	320 045/031 -49
100 062/006 -03	300 048/030 -45	300 048/030 -45	300 047/030 -45

CEGAM	BAGAS	SSN	LUSEM
380 011/035 -59	380 011/035 -59	380 011/035 -59	380 010/035 -59
360 013/036 -56	360 012/036 -56	360 012/036 -56	360 012/036 -56
340 014/037 -54	340 014/037 -54	340 014/037 -54	340 014/037 -54
320 014/038 -49	320 014/038 -49	320 014/038 -49	320 014/038 -49
300 014/038 -45	300 014/038 -45	300 014/038 -45	300 014/038 -45

LULUT	POI	PEPAX	NIMER
380 354/041 -59	380 010/054 -59	340 012/063 -55	340 012/063 -55
360 354/041 -57	360 011/059 -57	320 010/064 -50	320 010/064 -50
340 354/040 -54	340 012/063 -55	300 008/064 -45	300 008/064 -45
320 355/043 -50	320 010/064 -50	280 005/063 -41	280 005/063 -41
300 355/046 -46	300 008/064 -45	260 003/061 -36	260 003/061 -36

KEPER	LUMAN	T O D	DESCENT
340 011/059 -55	340 011/059 -55	340 008/061 -54	350 010/058 -55
320 009/062 -50	320 009/062 -50	320 008/065 -49	310 008/067 -47
300 008/064 -45	300 008/064 -45	300 008/068 -45	200 016/065 -23
280 008/063 -40	280 008/063 -40	280 009/069 -40	150 047/033 -14
260 008/061 -36	260 008/061 -36	260 010/070 -36	100 081/017 -08

[ATC Flight Plan]

```
-----------------------------------------------------------------------
                           ICAO FLIGHT PLAN
                           ----------------

FF LECMZQZX LFFFZQZX
221029 CYULSBFP
(FPL-FIN1008-IS
-A333/H-SDE3GHIJ2J3J5M1RVWXY/LB2D1
-LEMD1100
-N0474F340 RBO4N RBO DCT OSTIX DCT GASMO DCT DGO DCT CEGAM DCT BAGAS
 DCT SSN DCT LUSEM DCT LULUT DCT POI/N0474F300 DCT PEPAX UT182 KEPER
 KEPER9W
-LFPG0126 LFOK
-PBN/A1B1C1D1O1S2 DOF/260322 REG/N339SB EET/LFFF0030 OPR/FIN PER/C
 RMK/TCAS)
```

[Additional Info]

D I S P A T C H B R I E F I N G I N F O AY1008 LEMD/LFPG

[Runway Analysis]

```
----------------------------------------------------------------------

TAKEOFF AND LANDING REPORT FIN 1008 LEMD-LFPG 22MAR26
TLR-1 SEQ-166983106 22MAR26 1029Z
A/C N339SB  A330-300 TRENT 772  BEW/CG 127303/.....

/// TAKEOFF DATA ///

APT   PRWY  POAT PWIND  PQNH  PMRTW FLP MT V1 VR V2 PTOW MFPTW LIMIT
LEMD  36L   11.0 210M02 1012  2330  1   49 28 28 35 1702 1960  AFM

RMKS FLEX - SEL TEMP 49
     BLEEDS ON

---- ---- ------ ----- ------- --- --- --- --- --- -----------------
RWY  OAT  WIND   QNH   MRTW    FLP V1  VR  V2  PWR CONFIG/CONDITION

---------------------------- ACARS RUNWAYS ---------------------------
RWY          ACARS  LENGTH PMTOW NOTES
14L                 11483  2330
14R                 13084  2330
18L                 11483  2330 ILS 111.50
18R                 13711  2330 ILS 110.70
32L                 13084  2330 ILS 109.90
32R                 11483  2330 ILS 109.10
36L                 13711  2330
36R                 11483  2330

-------------------- DRY RWY - PTOW - CALM WIND --------------------
RWY          MTOW MT CONFIG                   FLP  V1  VR  V2  LIMIT
14L          2330 50 FLEX - BLEEDS ON           1 128 128 135  AFM
14R          2330 49 FLEX - BLEEDS ON           1 128 128 135  AFM
18L          2330 50 FLEX - BLEEDS ON           1 128 128 135  AFM
18R          2330 49 FLEX - BLEEDS ON           1 128 128 135  AFM
32L          2330 50 FLEX - BLEEDS ON           1 128 128 135  AFM
32R          2330 50 FLEX - BLEEDS ON           1 128 128 135  AFM
36L          2330 49 FLEX - BLEEDS ON           1 128 128 135  AFM
36R          2330 50 FLEX - BLEEDS ON           1 128 128 135  AFM

--------------- DRY RWY - PTOW PLUS 4000 - CALM WIND ---------------
RWY          MTOW MT CONFIG                   FLP  V1  VR  V2  LIMIT
14L          2330 50 FLEX - BLEEDS ON           1 130 130 137  AFM
14R          2330 49 FLEX - BLEEDS ON           1 130 130 137  AFM
18L          2330 50 FLEX - BLEEDS ON           1 130 130 137  AFM
18R          2330 49 FLEX - BLEEDS ON           1 130 130 137  AFM
32L          2330 50 FLEX - BLEEDS ON           1 130 130 137  AFM
32R          2330 50 FLEX - BLEEDS ON           1 130 130 137  AFM
36L          2330 49 FLEX - BLEEDS ON           1 130 130 137  AFM
36R          2330 50 FLEX - BLEEDS ON           1 130 130 137  AFM
```

```
-------------------- WET RWY - PTOW - CALM WIND --------------------
RWY          MTOW MT CONFIG                    FLP  V1  VR  V2  LIMIT
14L          2330 50 FLEX - BLEEDS ON            1 128 128 135  AFM
14R          2330 49 FLEX - BLEEDS ON            1 128 128 135  AFM
18L          2330 50 FLEX - BLEEDS ON            1 128 128 135  AFM
18R          2330 49 FLEX - BLEEDS ON            1 128 128 135  AFM
32L          2330 50 FLEX - BLEEDS ON            1 128 128 135  AFM
32R          2330 50 FLEX - BLEEDS ON            1 128 128 135  AFM
36L          2330 49 FLEX - BLEEDS ON            1 128 128 135  AFM
36R          2330 50 FLEX - BLEEDS ON            1 128 128 135  AFM

--------------- WET RWY - PTOW PLUS 4000 - CALM WIND ---------------
RWY          MTOW MT CONFIG                    FLP  V1  VR  V2  LIMIT
14L          2330 50 FLEX - BLEEDS ON            1 130 130 137  AFM
14R          2330 49 FLEX - BLEEDS ON            1 130 130 137  AFM
18L          2330 50 FLEX - BLEEDS ON            1 130 130 137  AFM
18R          2330 49 FLEX - BLEEDS ON            1 130 130 137  AFM
32L          2330 50 FLEX - BLEEDS ON            1 130 130 137  AFM
32R          2330 50 FLEX - BLEEDS ON            1 130 130 137  AFM
36L          2330 49 FLEX - BLEEDS ON            1 130 130 137  AFM
36R          2330 50 FLEX - BLEEDS ON            1 130 130 137  AFM

/// LANDING DATA ///

APT   PRWY  POAT PWIND  PQNH  PMRLW FLP  PLDW  LIMIT
LFPG  09L   10.0 009M08 1014  1870  FULL 1611  AFM

RMKS WET RUNWAY

-------- ---- ------ ----- ------- --- ----- --- -------------------
RWY      OAT  WIND   QNH   MRLW    FLP VREF  PWR CONFIG/CONDITION

--------------------------- ACARS RUNWAYS --------------------------
RWY          ACARS  LENGTH PMRLW NOTES
08L                 13589  1870 ILS 108.70
08R                  8858  1870 ILS 108.55
09L                  8858  1870 ILS 109.35
09R                 13780  1870 ILS 110.10
26L                  8858  1870 ILS 108.35
26R                 11864  1870 ILS 111.95
27L                 11811  1870 ILS 110.70
27R                  8858  1870 ILS 110.35

------------- FLAPS FULL - PACKS ON - NO ENROUTE ICING -------------
DRY RWY / WET RWY
            08L            08R            09L            09R
  OAT       13589 FT       8858 FT        8858 FT        13780 FT
   05       1870A/1870A    1870A/1870A    1870A/1870A    1870A/1870A
 / 10       1870A/1870A    1870A/1870A    1870A/1870A    1870A/1870A
   15       1870A/1870A    1870A/1870A    1870A/1870A    1870A/1870A
HW/10KT         0/    0        0/    0        0/    0        0/    0
TW/10KT         0/    0        0/    0        0/    0        0/    0
```

```
            26L             26R             27L             27R
  OAT       8858 FT         11864 FT        11811 FT        8858 FT
   05       1870A/1870A     1870A/1870A     1870A/1870A     1870A/1870A
 / 10       1870A/1870A     1870A/1870A     1870A/1870A     1870A/1870A
   15       1870A/1870A     1870A/1870A     1870A/1870A     1870A/1870A
HW/10KT         0/    0         0/    0         0/    0         0/    0
TW/10KT         0/    0         0/    0         0/    0         0/    0

-------- LANDING DISTANCE - FLAPS FULL - MAX MANUAL BRAKING --------
                   ACTUAL             FACTORED
  LDW     VREF     DRY      WET      DRY      WET
  1580    126     3282     4142     4336     5325
  1600    126     3282     4142     4336     5325
/ 1620    127     3308     4176     4377     5375
  1640    128     3335     4209     4419     5424
  1660    128     3362     4243     4461     5474
HW/KT              -20      -25      -23      -28
TW/KT               59       75       88      107

END TAKEOFF AND LANDING REPORT FIN 1008 LEMD-LFPG 22MAR26
```

[Airport WX List]

```
-----------------------------------------------------------------------
LEMD --> LFPG    AY  1008 / 22MAR2026
LIDO/WEATHER SERVICE       DATE : 22Mar2026   TIME : 10:29 UTC

AIRMETs:
  No Wx data available

SIGMETs:
LECM  MADRID FIR/UIR
  WS  SIGMET 2 VALID 220800/221200 LEVA- LECM MADRID UIR
             SEV TURB FCST S OF LINE N3821 W00131 - N3614 W00721
             FL310/340 MOV NE NC=

Tropical Cyclone SIGMETs:
  No Wx data available

Volcanic Ash SIGMETs:
  No Wx data available

Departure:
LEMD/MAD  ADOLFO SUAREZ MADRID-BARAJAS
  SA  221000  21002KT CAVOK 11/07 Q1012 NOSIG
  FT  220500  2206/2312 VRB03KT CAVOK TX18/2212Z TN02/2305Z
              PROB40 TEMPO 2206/2208 4000 BR BCFG
              PROB30 TEMPO 2206/2207 0600 FG VV002
              PROB30 TEMPO 2216/2220 26010KT
              PROB30 TEMPO 2223/2305 05010KT
              BECMG 2308/2310 05010KT

Destination:
LFPG/CDG  CHARLES-DE-GAULLE
  SA  220930  03007KT 350V070 8000 NSC 10/05 Q1014 NOSIG
  FT  220500  2206/2312 01008KT 4000 BR NSC TX15/2215Z TN04/2206Z
              BECMG 2206/2208 8000 NSW
              PROB40 TEMPO 2305/2307 4000 BR

Destination Alternates:
LFOK/XCR  VATRY
  SA  221000  AUTO 06010KT 020V080 9999 SCT020 10/06 Q1012 NOSIG
  FT  220500  2206/2306 02008KT CAVOK
              PROB30 TEMPO 2206/2208 4000 BR
              BECMG 2218/2221 VRB03KT
              PROB30 TEMPO 2303/2306 4000 BR


  AIRPORTLIST ENDED
```

[NOTAM]

LIDO-NOTAM-BULLETIN INCLUDES NOTAM, COMP NOTAM AND AIP-REGULATION
VALID: 2603221100 - 2603221635 STD(EOBT)+TRIP+ALTN+3HRS
FIN 1008 /22MAR OFP-NR: 1
ROUTE: LEMD - LFPG ALTN: LFOK
N0474F340 RBO4N RBO DCT OSTIX DCT GASMO DCT DGO DCT CEGAM DCT BAGAS DCT SSN DCT LUSEM DCT LULUT DCT POI/N0474F300 DCT PEPAX UT182 KEPER KEPER9W

==========
DEPARTURE AIRPORT - DETAILED INFO
==========

LEMD/MAD ADOLFO SUAREZ MADRID-BARAJAS

++++++++++++++++++++++++++++ AIRPORT ++++++++++++++++++++++++++++++

A0824/26
TRIGGER NOTAM - PERM AIRAC AIP AMDT 02/26 WEF 19-MAR-26
MADRID/ADOLFO SUAREZ MADRID-BARAJAS AD.-
- GMC 1 CHART: CORRECTION TO THE HS-1 NORTH
HOT SPOT GRAPHIC.
A0829/26
TRIGGER NOTAM - AIRAC AIP SUP 22/26 WEF 19-MAR-26 TO 19-MAR-27 EST
MADRID/ADOLFO SUAREZ MADRID-BARAJAS **AD** (LEMD) .- RESURFACING ON **TAXIWAYS** A11 AND A12
A1844/26
REF SUP AIRAC 234/25: ACTIVATION PHASE 1
A1702/26
REF SUP 192/25: MADRID/ADOLFO SUAREZ MADRID-BARAJAS **AD** (LEMD) :
- **TWY F4** AND THE SECTION OF **TWY F3** BETWEEN PRKG 258 AND **TWY F4** WILL REMAIN **CLOSED**. SUP CNL
A1543/26
TWY EF, EH, Q3, GATES 15 AND 16, LTD TO CODE LETTER E MAX ACFT
A1304/26
REF SUP AIRAC 161/25: PHASE 1 ACT
A1379/26
REF SUP AIRAC 161/25 PHASE 1: TURNS FROM **TWY G12** TO **TWY** B5 AND FROM **TWY N4** TO **TWY G12** NOT PERMITTED FOR ACFT B777, A340, A380, B757 AND B747
A1390/26
REF SUP AIRAC 161/25 PHASE 1: TURNS FM **TWY N3** TO GATE 11 AND FM **TWY N4** TO GATE 12 NOT ALLOWED FOR ACFT TYPE B777, A340 AND B747
A1431/26
REF SUP AIRAC 161/25 PHASE 1: TURN FM **TWY G11** TO B2 NOT PERMITTED FOR ACFT B747
A1381/26
REF AIRAC SUP 133/25, PHASE 5 ACT
A1022/26
REF SUP 134/25:PHASE 3A ACT. RET L5 **CLSD** BTN **RWY** AND **TWY A11**
A1023/26
REF SUP 134/25 PHASE 3A: NORTHERN SECTION OF RAPID EXIT **TWY L7 CLSD**

R4946/25
0900-1800
UNMANNED ACFT FLYING WI COORD:
402604N 0033535W - 402545N 0033535W - 402545N 0033608W -
402604N 0033608W - 402604N 0033535W
MADRID/MADRID
F) GND G) 00120M AGL
R0019/26
0900-1830
UNMANNED ACFT WILL TAKE PLACE WI COORD
402856N 0033734W - 402856N 0033704W - 402822N 0033705W -
402818N 0033645W - 402754N 0033639W - 402749N 0033644W -
402746N 0033712W - 402809N 0033731W - 402835N 0033735W -
402856N 0033734W
MADRID/ MADRID
F) GND G) 00100M AGL
R4911/25
UNMANNED ACFT FLYING WI COORD:
402443N 0033438W
402516N 0033137W
402355N 0033022W
402254N 0033248W
402443N 0033438W
F) GND G) 00090M AGL
R4834/25
SR-SS
UNMANNED ACFT WILL TAKE PLACE AT MADRID/MADRID AT COORDS:
402914N 0033650W
RADIUS 100M
MAX HGT 90M AGL
F) GND G) 00090M AGL
R4894/25
SR-SS
UNMANNED ACFT FLYING WI 165M RADIUS ON COORD
402620N 0033746W
MADRID/MADRID
F) GND G) 00090M AGL

++++++++++++++++++++++ APPROACH PROCEDURES ++++++++++++++++++++++++

A1738/26
REF **AD** 2-LEMD IAC 14
ILS W RWY32L NO **AVBL**
SEE NOTAM E1292/26

==========
DESTINATION AIRPORT - DETAILED INFO
==========

LFPG/CDG CHARLES-DE-GAULLE

++++++++++++++++++++++++++++ AIRPORT +++++++++++++++++++++++++++++

A0872/26
TRIGGER NOTAM - AIRAC AIP SUP 019/26 :
RESTRICTIONS ON USE OF **AD** PARIS CHARLES DE GAULLE - REHABILITATION
AND CLOSURE OF PART OF **TAXIWAYS** F AND E.
THE DATES OF PHASES ARE CONFIRMED BY NOTAM.
THIS AIP SUP IS **AVBL** AT WWW.SIA.AVIATION-CIVILE.GOUV.FR

A1529/26
TAXIWAY A4 CLOSED (AREAS Q).
A1563/26
TWY C CLOSED BTN **TWY C2** AND UT1 EXCLUDED, **TWY** BD4 **CLOSED**.
A0255/26
REF :
AD2 LFPG STAR **RWY** EAST RNAV BIBAX LUKIP
AD2 LFPG STAR **RWY** EAST RNAV KEPER ROMGO
AD2 LFPG STAR **RWY** WEST RNAV BIBAX LUKIP 01
AD2 LFPG STAR **RWY** WEST RNAV BIBAX LUKIP H
AD2 LFPG STAR **RWY** WEST RNAV KEPER ROMGO
READ :
MSA BANOX 2700FT,
MSA MOBRO 2400FT,
MSA MOPAR 2400FT,
READ :
MOCA HLDG BANOX 2700FT,
MOCA HLDG BIBAX 1900FT,
MOCA HLDG LUKIP 2000FT,
MOCA HLDG MOPAR 2200FT,
MOCA HLDG ROMGO 2700FT,
MOCA HLDG ROU 2400FT.
A0991/26
ADDITION TO AIP AD2.21.2.2.1 DEP OPERATIONAL PROCEDURES : REACHING 3000FT (ABOVE AERODROME LEVEL), AFTER NADP1, CONTINUE ACCELERATION UP TO 250KT MAXIMUM MAINTAINING A POSITIVE CLIMB GRADIENT.

++++++++++++++++++++++++++++++ STAR ++++++++++++++++++++++++++++++

A1610/26
STAR RNAV ENORI 9J **RWY 26L** 26R 27L 27R **NOT AVBL**.

==========
DESTINATION ALTERNATE AIRPORT(S)
==========

LFOK/XCR VATRY

++++++++++++++++++++++++++++ AIRPORT ++++++++++++++++++++++++++++

B0964/26
TWY EA EB PROHIBITED WHEN RVR LOWER THAN 350M.
B0665/26
TWY A2 A3 A4 A5 STOP BARS **U/S**
B0367/26
FREQUENCIES A/A, VDF, AFIS AND TWR VATRY MODIFIED :
READ 129.405MHZ INSTEAD OF 129.400MHZ
REF :
LFOK **AD** 2.18
LFOK **AD** 2.24
LFOK APP 01

B0423/26
RFFS LEVELS AND HOURS OF SERVICE (EU STANDARDS) :
- LVL 7 :
. MON-FRI : 0600-1800
EXC FEB 06 13 20 : 0600-1800, LVL 5 ONLY
EXC FEB 16 : 0600-0800 LVL 7, 0800-1800 LVL 5
. SAT-SUN : 0830-1145 1300-1800
EXC FEB 22, LVL 5 ONLY
- OUTSIDE THESE HOURS, RFFS NOT PROVIDED EXCEPT FOR LEVELS 5 OR 7 UPON 01HR PPR ONLY
- LVL 9 POSSIBLE UPON 07 DAYS PPR
- REQUEST DURING ATS SKED TO AIRPORT OPS : PHONE +33 326 648 230.

B0292/26
STANDS 'E6' 'E6A' 'E6B' 'E7' 'E7A' 'E7B' **CLSD**.

B2062/25
UAV FLIGHTS IN CHAUMONT, MAILLY, SUIPPES AND SISSONNE REGIONS - AIP
SUP 088/25 :
SUBJECT : CREATION OF A 5 TEMPORARY RESTRICTED AREAS.
THESE AREAS CAN BE **ACTIVATED** FROM MON 05H00 TO FRI 11H00 (SUM : -1HR) EXCEPT ON PUB HOL, BY A D-7 PRIOR NOTICE NOTAM.
THIS AIP SUP IS **AVBL** AT WWW.SIA.AVIATION-CIVILE.GOUV.FR

==========
EXTENDED AREA AROUND DEPARTURE
==========

LECM MADRID FIR/UIR

++++++++++++++++++++++++++++ FIR/UIR ++++++++++++++++++++++++++++++

B1937/26
TRIGGER NOTAM - AIP SUP 09/26 WEF 19-FEB-26 TO 26-DEC-26 EST
FIR MADRID - LA COLINA WIND FARM UNDER CONSTRUCTION

B1941/26
TRIGGER NOTAM - AIP SUP 26/26 WEF 19-MAR-26 TO 19-MAR-27 EST
FIR MADRID.- INSTALLATION OF A MEASURING TOWER 'EL HITO'

B1942/26
TRIGGER NOTAM- AIP SUP 28/26 WEF 19-MAR-26 TO 19-FEB-27 EST
FIR MADRID.- SALGUERO WIND FARM UNDER CONSTRUCTION

B1943/26
TRIGGER NOTAM- AIP SUP 29/26 WEF 19-MAR-26 TO 19-MAR-27 EST
FIR MADRID.- INSTALLATION OF A MEASURING TOWER WITHIN SANTA PATRICIA WIND FARM

B1946/26
TRIGGER NOTAM- AIP SUP 31/26 WEF 19-MAR-26 A 20-FEB-27 EST
FIR MADRID.- MONTE BECERRIL WIND FARM UNDER CONSTRUCTION

B1950/26
TRIGGER NOTAM- AIP SUP 32/26 WEF 19-MAR-26 TO 19-MAR-27 EST
FIR MADRID.- MIRAVETE WIND FARM UNDER CONSTRUCTION

B1957/26
TRIGGER NOTAM- AIP SUP 35/26 WEF 19-MAR-26 TO 19-MAR-27 EST
FIR MADRID.- LOS BALAZOS WIND FARM UNDER CONSTRUCTION

B1958/26
TRIGGER NOTAM- AIP SUP 37/26 WEF 19-MAR-26 TO 19-MAR-27 EST
FIR MADRID.- ESPILO WIND FARM UNDER CONSTRUCTION

B1962/26
TRIGGER NOTAM- AIP SUP 38/26 WEF 19-MAR-26 A 19-MAR-27 EST
FIR MADRID.- MELGUIZAS WIND FARM UNDER CONSTRUCTION

B1966/26
TRIGGER NOTAM- AIP SUP 41/26 WEF 19-MAR-26 TO 19-MAR-27 EST
FIR MADRID - PARRANCANAS WIND FARM UNDER CONSTRUCTION
B1973/26
TRIGGER NOTAM- NOTAM-AIP SUP 46/26 WEF 19-MAR-26 A 19-MAR-27 EST
FIR MADRID.- BLANCO WIND FARM UNDER CONSTRUCTION
B1978/26
TRIGGER NOTAM- AIP SUP 47/26 WEF 19-MAR-26 TO 19-MAR-27 EST
AIS-ESPANA.- MILITARY INVASION OF UKRAINE BY RUSSIAN
FEDERATION
B1992/26
TRIGGER NOTAM - AIP SUP 48/26 WEF 19-MAR-26 TO 19-MAR-27 EST.
FIR MADRID.- ARCE WIND FARM UNDER CONSTRUCTION.
B1996/26
TRIGGER NOTAM - AIP SUP 50/26 WEF 19-MAR-26 TO 20-FEB-27 EST.
FIR MADRID.- LA MOTA WIND FARM UNDER CONSTRUCTION
B1999/26
TRIGGER NOTAM - AIP SUP 53/26 WEF 19-MAR-26 TO 19-MAR-27 EST.
FIR MADRID.- CARRICONDO WIND FARM UNDER CONSTRUCTION
B0936/26
TRIGGER NOTAM - AIRAC AIP SUP 11/26 WEF 19-MAR-26 TO 19-MAR-27 EST
FIR MADRID.- EL CASTILLAR WIND FARM UNDER CONSTRUCTION
B0939/26
TRIGGER NOTAM - AIRAC AIP SUP 12/26 WEF 19-MAR-26 TO 19-MAR-27 EST
FIR MADRID.-LAS TADEAS WIND FARM UNDER CONSTRUCTION
B0938/26
TRIGGER NOTAM - PERM AIRAC AIP AMDT 02/26 WEF 19-MAR-26 DATA-SET.-
- EN-ROUTE DATASET.
- AIRSPACE DATASET.
- PUBLIC AERODROMES/HELIPORTS DATA SETS:
- ALBACETE (LEAB).
- BILBAO (LEBB).
- JEREZ (LEJR).
- LANZAROTE/CESAR MANRIQUE LANZAROTE
(GCRR).
- REUS (LERS).
B0941/26
TRIGGER NOTAM - AIRAC AIP SUP 13/26 WEF 19-MAR-26 TO 19-MAR-27 EST
FIR MADRID.- INSTALLATION OF A MEASURING TOWER WITHIN LOS CANOS
III WIND FARM.
B0949/26
TRIGGER NOTAM - AIRAC AIP SUP 24/26 WEF 19-MAR-26 TO 19-MAR-27 EST
FIR MADRID.- OLERON WIND FARM UNDER CONSTRUCTION
G0024/26
GNSS/GPS MAY BE UNAVAILABLE OR MISLEADING DUE TO INTERFERENCE FM
SFC
UP TO FL660 IN THE AREA DEFINED BY THE FOLLOWING POINTS: 372110N
0050855W, 372110N 0014400W, 355000N 0020600W, 355000N 0043812W,
361227N 0043812W, 362634N 0050116W, 365100N 0050855W, 372110N
0050855W. THE AREA INCLUDE, AMONG OTHER PLACES, MALAGA, ALMERIA
AND THE ALBORAN SEA. REPORT TO ATC IF ANY INTERFERENCE DETECTED
B1332/26
UNTIL 31 MAR 2026 2359 UTC, SPANISH CIVIL AIR OPERATORS ARE
RECOMMENDED TO EXERCISE **CAUTION** AND IMPLEMENT CONTINGENCY PLANNING
WHEN OPERATING AND ROUTING WITHIN:
A) SAN JUAN FIR (TJZS),
B) CURACAO FIR (TNCF) ,
C) PIARCO FIR (TTZP) WEST OF 0570000W,
DUE TO POTENTIAL SPILLOVER RISKS ASSOCIATED WITH THE DEPLOYMENT
AND POSSIBLE USE OF MILITARY ASSETS IN THE REGION

B1330/26
UNTIL 31 MAR 2026 2359 UTC, SPANISH CIVIL AIR OPERATORS ARE RECOMMENDED TO EXERCISE **CAUTION** AND IMPLEMENT CONTINGENCY PLANNING WHEN OPERATING AND ROUTING WITHIN MAIQUETIA FIR (SVZM) DUE TO POTENTIAL RISKS ASSOCIATED WITH THE DEPLOYMENT AND POSSIBLE USE OF MILITARY ASSETS IN THE REGION

B1231/26
MILITARY INVASION OF UKRAINE BY RUSSIAN FEDERATION:
ALL AIRCRAFT OWNED, CHARTERED OR OPERATED OR OTHERWISE CONTROLLED BY CITIZENS OF THE RUSSIAN FEDERATION AND ALL OPERATORS HOLDING AIR OPERATOR CERTIFICATE (AOC) ISSUED BY THE RUSSIAN FEDERATION AUTHORITIES ARE PROHIBITED TO ENTER, EXIT OR OVERFLY SPANISH AIRSPACE EXCEPT HUMANITARIAN, SAR AND LEASED AIRCRAFT ONE-WAY RETURN FLIGHTS WITH THE PERMISSION OF THE APPROPRIATE SPANISH AUTHORITIES AND IN CASE OF EMERGENCY LANDING OR EMERGENCY OVERFLIGHT. REQUESTS FOR HUMANITARIAN FLIGHTS SHALL BE SENT TO THE CONCERNED SPANISH AIRPORT OPERATOR.

B1229/26
IN ACCORDANCE WITH COUNCIL DECISION (CFSP) 2021/908 , PERMISSION TO LAND IN, TAKE-OFF FROM OR OVERFLY THE TERRITORY OF SPAIN SHALL BE DENIED TO ANY AIRCRAFT OPERATED BY BELARUSIAN AIR CARRIERS, INCLUDING AS A MARKETING CARRIER IN CODE-SHARING OR BLOCKED-SPACE ARRANGEMENTS.
PREVIOUS PARAGRAPH SHALL NOT APPLY IN THE CASE OF AN EMERGENCY LANDING OR AN EMERGENCY OVERFLIGHT. SPANISH AUTHORITIES MAY DETERMINE NOT APPLICABILITY OF THE PARAGRAPH ABOVE WHEN A LANDING, TAKE-OFF OR OVERFLIGHT IS REQUIRED FOR HUMANITARIAN PURPOSES OR ANY OTHER PURPOSES.

++++++++++++++++++++++ RESTRICTED AIRSPACE ++++++++++++++++++++++

D1219/26 VALID: 21-MAR-26 0800 - 22-MAR-26 1500
21-22 0800-1500
PARATRIKE FLIGHT WILL TAKE PLACE WI 200M RADIUS CENTERED ON COORD: 371217N 0063005W
ALMONTE, HUELVA
F) SFC G) 00200FT AGL

D1320/26
SR-SS
TEMPO SEGREGATED AREA **ACTIVATED** FOR UNMANNED ACFT FLYING WI COORD: 400446N 0025607W - 395945N 0024437W - 395734N 0024537W - 400240N 0025732W - 400446N 0025607W
TARANCON, CUENCA
RMK:
COORDINATION PHONE NUMBER: +34 948 572 230
+34 669 408 833 / +34 680 836 208 / +34 636 440 147
COORDINATION MAIL: COORDINACIONES(AT)FUVEX.COM
F) SFC G) 00100M AGL

D1239/26
17-20 1200-1330 1500-1900, 25-26 0800-1330 1500-1900, 24 , 0800-1000 1030-1330 1500-1900
TEMPORARY SEGREGATED AREA FOR UNMANNED ACFT VEHICLE FLYING **ACTIVATED** WI 405146N 0032719W, 405146N 0032239W, 404942N 0032239W, 404942N 0032719W, 405146N 0032719W
GUADALAJARA/CASAS DE UCEDA
RMK: THE ACTIVATION/DEACTIVATION OF THIS AREA WILL BE CARRIED OUT IN REAL TIME BY TACTICAL COORDINATION WITH ECAO (OPERATIVE AIR TRAFFIC SQUADRON) MADRID, MADRID ACC AND LECV TWR
F) SFC G) 04500FT AMSL

D0756/26
24-26 1000-1500 1700-2100, 17-19 1000-1300
TEMPORARY SEGREGATED AREA FOR UNMANNED AIRCRAFT VEHICLE
FLYING **ACTIVATED** WI 370116N 0022229W, 365812N 0021955W,
365305N 0022149W, 365235N 0022316W, 365350N 0022547W,
370116N 0022229W (LATERAL LIMITS COINCIDENTAL WITH LED36)
ALMERIA/ALVAREZ DE SOTOMAYOR
RMK: THE ACTIVATION/DEACTIVATION OF THIS AREA WILL BE CARRIED OUT
IN REAL TIME BY TACTICAL COORDINATION WITH ECAO (OPERATIVE
AIR TRAFFIC SQUADRON) SEVILLA AND LEAM TWR.
F) SFC G) 04000FT AMSL

D1262/26
SR-SS
TEMPO SEGREGATED AREA **ACTIVATED** FOR UNMANNED ACFT
WI COORD:
405414N 0020451W - 410056N 0021232W - 410445N 0021049W -
410923N 0015859W - 410646N 0014843W - 405803N 0014524W -
405457N 0014551W - 405124N 0014924W - 405605N 0015937W -
405414N 0020451W
TARTANEDO, GUADALAJARA
RMK:
COORDINATION PHONE NUMBER: +34 948 572 230 / +34 680 836 208
COORDINATION MAIL: COORDINACIONES(AT)FUVEX.COM
F) SFC G) 00100M AGL

D1248/26
SR-SS
TSA **ACTIVATED** FOR UNMANNED ACFT WI COORD:
411116N 0023247W
411900N 0022953W
411914N 0022727W
411332N 0022643W
411417N 0021306W
411036N 0021050W
410441N 0021507W
410516N 0022241W
410710N 0023022W
411116N 0023247W.
MEDINACELI, SORIA.
RMK:
COORDINATION PHONE NUMBER: +34 948 572 230 /+34 680 836 208.
CORDINATION MAIL: COORDINACIONES(AT)FUVEX.COM
F) SFC G) 00100M AGL

D1266/26
16-20 23 0800-1400
LED119 **ACTIVATED** FOR AIR OPS
RMK: THE ACTIVATION/DEACTIVATION OF THIS AREA WILL BE CARRIED OUT
IN REAL TIME BY TACTICAL COORDINATION WITH ECAO (OPERATIVE
AIR TRAFFIC SQUADRON) SEVILLA
F) FL245 G) FL600

D1267/26
16 0800-1900, 17-20 23-27 0800-1400
LED120 **ACTIVATED** FOR AIR OPS
RMK: THE ACTIVATION/DEACTIVATION OF THIS AREA WILL BE CARRIED OUT
IN REAL TIME BY TACTICAL COORDINATION WITH ECAO (OPERATIVE
AIR TRAFFIC SQUADRON) SEVILLA
F) SFC G) FL245

D1268/26
16-20 23 0800-1400
AIR EXERCISES WI 365531N 0072129W, 370430N 0070731W,
370537N 0070137W, 365033N 0064303W, 362000N 0072130W,
365531N 0072129W
HUELVA/D-121R ARENOSILLO NORTE INFERIOR OESTE
RMK: THE ACTIVATION/DEACTIVATION OF THIS AREA WILL BE CARRIED OUT
IN REAL TIME BY TACTICAL COORDINATION WITH ECAO (OPERATIVE
AIR TRAFFIC SQUADRON) SEVILLA
F) SFC G) FL245

D1202/26
SR-SS
TEMPO SEGREGATED AREA **ACTIVATED** WI COORD:
392552N 0041414W
392432N 0041034W
390057N 0040940W
390113N 0041419W
391607N 0042013W
391959N 0041548W
392133N 0041345W
392238N 0041530W
392552N 0041414W
PORZUNA, CIUDAD REAL.
RMK:
COORDINATION PHONE NUMBER: +34 948 572 230 / +34 669 408 833
COORDINATION MAIL: COORDINACIONES(AT)FUVEX.COM
F) SFC G) 00100M AGL

D1034/26
TEMPO RESTRICTED AREA **ACTIVATED** FOR UNMANNED ACFT
FLYING WI COORD: 385235N 0025341W - 385233N 0024905W -
384859N 0024841W - 384522N 0024847W - 384459N 0024817W -
384447N 0024817W - 384425N 0025210W - 384305N 0025206W -
384431N 0025355W - 385235N 0025341W
VILLAHERMOSA, CIUDAD REAL
RMK:
COORDINATION PHONE NUMBER: +34 680 836 208/ +34 669 408 833
COORDINATION MAIL: COORDINACIONES(AT)FUVEX.COM
F) SFC G) 00100M AGL

D1158/26
SR-SS
TEMPO SEGREGATED AREA **ACTIVATED** WI COORD:
384553N 0031543W - 384451N 0031535W - 384339N 0032341W -
384130N 0032442W - 383822N 0032648W - 383037N 0032905W -
383046N 0033006W - 383426N 0032931W - 383916N 0032811W -
384439N 0032512W - 384553N 0031543W
LOCALIZACION: VALDEPENAS, CIUDAD REAL.
RMK:
COORDINATION PHONE NUMBER: +34 948 572 230/ +34 680 836 208
F) SFC G) 00100M AGL

D1168/26
SR-SS
TEMPO SEGREGATED AREA **ACTIVATED** FOR UNMANNED ACFT WI COORD:
384944N 0032431W - 384945N 0032341W - 384729N 0032328W -
384431N 0032336W - 384433N 0032427W - 384709N 0032459W -
384944N 0032431W
VALDEPENAS, CIUDAD REAL.
RMK:
COORDINATION PHONE NUMBER: +34 948 572 230 / +34 669 408 833
COORDINATION MAIL: COORDINACIONES(AT)FUVEX.COM
F) SFC G) 00100M AGL

D1118/26
SR-SS
TEMPO SEGREGATED AREA **ACTIVATED** FOR UNMANNED ACFT WI COORD:
390747N 0030202W
391059N 0030604W
391335N 0030805W
391558N 0030830W
391612N 0030718W
391419N 0030208W
390905N 0025939W
390739N 0025925W
390747N 0030202W
TOMELLOSO, CIUDAD REAL
RMK:
CORDINATION PHONE NUMBER: +34 948 572 230 / +34 669 408 833
CORDINATION MAIL: COORDINACIONES(AT)FUVEX.COM
F) SFC G) 00100M AGL

D1138/26
MAR 12 24 28 0000-0600, MAR 23 2000-2359, APR 01-02 0600-1600
TEMPO **DANGER** AREA FOR UNMANNED ACFT **ACTIVATED** FLYING
WI COORD:
363512N 0064303W
363512N 0063942W
363214N 0063848W
362751N 0063443W
361330N 0063800W
361418N 0064302W
363512N 0064303W
AREA 4 GULF OF CADIZ
RMK:
COORDINATION PHONE NUMBER: +33 749960453
OVERFLIGHT CLEARED ONLY ACFT PROPERLY AUTHORIZED, STATE ACFT, ACFT OF THE FORCES AND CORPS OF STATE SECURITY AND ACFT OF THE EMERGENCY SERVICES.
THE ACTIVATION/DEACTIVATION OF THIS AREA WILL BE CARRIED OUT IN REAL TIME BY TACTICAL COORDINATION WITH SEVILLA ACC AND ECAO SEVILLA.
HE ACTIVATION OF THE AREA WILL BE CONDITIONED TO THE ABSENCE OF OTHER COINCIDING **ACTIVE** AREAS NEEDING COORDINATION FOR ITS USE
F) SFC G) 08500FT AMSL

D1139/26
MAR 12 24 28 0000-0600, MAR 23 2000-2359, APR 01-02 0600-1600
TEMPO **DANGER** AREA FOR UNMANNED ACFT **ACTIVATED** FLYING
WI COORD:
365033N 0064303W
364923N 0064303W
364255N 0064559W
363754N 0064305W
361418N 0064302W
362000N 0072130W
365033N 0064303W
AREA 5 GULF OF CADIZ
RMK:
COORDINATION PHONE NUMBER: +33 749960453
OVERFLIGHT CLEARED ONLY ACFT PROPERLY AUTHORIZED, STATE ACFT, ACFT OF THE FORCES AND CORPS OF STATE SECURITY AND ACFT OF THE EMERGENCY SERVICES.
THE ACTIVATION/DEACTIVATION OF THIS AREA WILL BE CARRIED OUT IN REAL TIME BY TACTICAL COORDINATION WITH SEVILLA ACC AND ECAO SEVILLA.
HE ACTIVATION OF THE AREA WILL BE CONDITIONED TO THE ABSENCE OF OTHER COINCIDING **ACTIVE** AREAS NEEDING COORDINATION FOR ITS USE
F) SFC G) 08500FT AMSL

D1141/26
MAR 12 24 28 0000-0600, MAR 23 2000-2359, APR 01-02 0600-1600
TEMPO **DANGER** AREA FOR UNMANNED ACFT **ACTIVATED** FLYING
WI COORD:
362751N 0063442W
362556N 0063205W
360412N 0061551W
360000N 0060738W
360000N 0062132W
355846N 0062149W
355849N 0064103W
361330N 0063800W
362751N 0063442W
AREA 7 GULF OF CADIZ
RMK:
COORDINATION PHONE NUMBER: +33 749960453
OVERFLIGHT CLEARED ONLY ACFT PROPERLY AUTHORIZED, STATE ACFT, ACFT OF THE FORCES AND CORPS OF STATE SECURITY AND ACFT OF THE EMERGENCY SERVICES.
THE ACTIVATION/DEACTIVATION OF THIS AREA WILL BE CARRIED OUT IN REAL TIME BY TACTICAL COORDINATION WITH SEVILLA ACC AND ECAO SEVILLA.
HE ACTIVATION OF THE AREA WILL BE CONDITIONED TO THE ABSENCE OF OTHER COINCIDING **ACTIVE** AREAS NEEDING COORDINATION FOR ITS USE
F) SFC G) 05500FT AMSL

D1037/26
11-12 18-19 25-26 1400-2000
TEMPORARY SEGREGATED AREA FOR UNMANNED AIRCRAFT VEHICLE FLYING **ACTIVATED** WI 362723N 0061740W, 362826N 0061512W, 362818N 0061358W, 362712N 0061322W, 362639N 0061335W, 362624N 0061334W, 362547N 0061412W, 362441N 0061603W, 362723N 0061740W EXC LED90B/C WHEN ACT
CADIZ/POLIGONO L/R
RMK: THE ACTIVATION/DEACTIVATION OF THIS AREA WILL BE CARRIED OUT IN REAL TIME BY TACTICAL COORDINATION WITH ECAO (OPERATIVE AIR TRAFFIC SQUADRON) SEVILLA.
F) SFC G) 05000FT AMSL

D1039/26
11-12 18-19 25-26 1400-2000
TEMPORARY SEGREGATED AREA FOR UNMANNED AIRCRAFT
VEHICLE FLYING **ACTIVATED** WI 360224N 0062329W, 362855N 0061710W,
362821N 0061328W, 362621N 0061345W, 362314N 0061232W,
361814N 0060854W, 361055N 0060149W, 360837N 0055733W,
360421N 0055218W, 360220N 0055231W, 360224N 0062329W
EXC LED90B/C, LETR2 AND LETS34 WHEN ACT
CADIZ/POLIGONO CHARLIE
RMK: THE ACTIVATION/DEACTIVATION OF THIS AREA WILL BE CARRIED OUT
IN REAL TIME BY TACTICAL COORDINATION WITH ECAO (OPERATIVE
AIR TRAFFIC SQUADRON) SEVILLA.
F) SFC G) 05000FT AMSL

D1043/26
11-12 18-19 25-26 1400-2000
TEMPORARY SEGREGATED AREA FOR UNMANNED AIRCRAFT
VEHICLE FLYING **ACTIVATED** WI 361152N 0062130W, 361152N 0060315W,
360227N 0053943W, 355626N 0053943W, 355622N 0055917W,
355000N 0060533W, 355000N 0070707W, 355945N 0070707W,
360020N 0064156W, 360433N 0064055W, 360439N 0062300W,
361152N 0062130W EXC LETR2, LETS34, LED90A/B AND LED122 WHEN ACT
CADIZ/POLIGONO DELTA
RMK: THE ACTIVATION/DEACTIVATION OF THIS AREA WILL BE CARRIED OUT
IN REAL TIME BY TACTICAL COORDINATION WITH ECAO (OPERATIVE
AIR TRAFFIC SQUADRON) SEVILLA.
F) SFC G) 05000FT AMSL

D1047/26
11-12 18-19 25-26 1400-2000
TEMPORARY SEGREGATED AREA FOR UNMANNED AIRCRAFT
VEHICLE FLYING **ACTIVATED** WI 361643N 0055250W,
361720N 0055157W, 361252N 0054317W, 361148N 0054227W,
360912N 0054822W, 360730N 0055008W, 360304N 0055252W,
360201N 0055403W, 360759N 0060043W, 360905N 0055937W,
360918N 0055855W, 361132N 0055521W, 361341N 0055520W,
361643N 0055250W
CADIZ/POLIGONO RETIN
RMK: THE ACTIVATION/DEACTIVATION OF THIS AREA WILL BE CARRIED OUT
IN REAL TIME BY TACTICAL COORDINATION WITH ECAO (OPERATIVE
AIR TRAFFIC SQUADRON) SEVILLA.
F) SFC G) 05000FT AMSL

D0709/26
11 0900-1600, 25 1000-1900
LED7 ACT FOR REAL FRNG EXER.
UPPER VERTICAL LIMIT MODIFIED
RMK: THE AREA WILL BE TREATED AS TSA
RMK: THE ACTIVATION/DEACTIVATION OF THIS AREA WILL BE CARRIED OUT
IN REAL TIME BY TACTICAL COORDINATION WITH ECAO (OPERATIVE
AIR TRAFFIC SQUADRON) MADRID
F) SFC G) 10000FT AMSL

D0939/26
10-12 2140-2359, 17-19 24-26 2000-2359, 31 1100-2359
LED129 **ACTIVATED** FOR AIR OPS
UPPER VERTICAL LIMIT MODIFIED
RMK: THE ACTIVATION/DEACTIVATION OF THIS AREA WILL BE CARRIED OUT
IN REAL TIME BY TACTICAL COORDINATION WITH ECAO (OPERATIVE
AIR TRAFFIC SQUADRON) SEVILLA
F) SFC G) 03000FT AMSL

D0938/26
10-12 2100-2359, 17-19 24-26 2000-2359, 31 1100-2359
AIR EXERCISES WI 363555N 0064302W, 363451N 0063304W,
361318N 0063800W, 361418N 0064302W, 363555N 0064302W
HUELVA/D-128 REDUCIDA
RMK: THE ACTIVATION/DEACTIVATION OF THIS AREA WILL BE CARRIED OUT
IN REAL TIME BY TACTICAL COORDINATION WITH ECAO (OPERATIVE
AIR TRAFFIC SQUADRON) SEVILLA
F) SFC G) 03000FT AMSL

D1169/26
MAR 10 2000-2359, MAR 11 0000-0600 2000-2359, MAR 12 24 28 ,
0000-0600, MAR 23 26 2000-2359, MAR 27 0000-0600 2000-2359
TEMPO SEGREGATED AREA **ACTIVATED** FOR UNMANNED ACFT
FLYING WI COORD:
362633N 0050109W
361949N 0045007W
361622N 0045006W
361607N 0045504W
361432N 0050039W
360615N 0050620W
355959N 0050417W
355959N 0051003W
360610N 0051617W
361039N 0051613W
362518N 0050446W
362633N 0050109W
AREA R-14A MAR DE ALBORAN
RMK:
COORDINATION PHONE NUMBER: +33 749960453
OVERFLIGHT CLEARED ONLY ACFT PROPERLY AUTHORIZED, STATE ACFT, ACFT
OF THE FORCES AND CORPS OF STATE SECURITY AND ACFT OF THE
EMERGENCY SERVICES.
THE ACTIVATION/DEACTIVATION OF THIS AREA WILL BE CARRIED OUT
IN REAL TIME BY TACTICAL COORDINATION WITH SEVILLA ACC AND ECAO
SEVILLA.
THE ACTIVATION OF THE AREA WILL BE CONDITIONED TO THE ABSENCE OF
OTHER COINCIDING **ACTIVE** AREAS NEEDING COORDINATION FOR ITS USE
F) SFC G) 01500FT AMSL

D0925/26
10-12 24-26 31 2000-2359
LED90A **ACTIVATED** FOR AIR OPS
UPPER VERTICAL LIMIT MODIFIED
RMK: THE ACTIVATION/DEACTIVATION OF THIS AREA WILL BE CARRIED OUT
IN REAL TIME BY TACTICAL COORDINATION WITH ECAO (OPERATIVE
AIR TRAFFIC SQUADRON) SEVILLA
F) SFC G) 03000FT AMSL

D1093/26
MAR 10 2000-2359, MAR 11 0000-0600 2030-2359, MAR 12 0000-0600,
MAR 16 0700-1700, MAR 24 0000-0600, MAR 26 2000-2359, MAR 27 ,
0000-0600 2000-2359, MAR 28 0000-0600, APR 01 0600-1600, APR 02 ,
0600-1600
TEMPO SEGREGATED AREA **ACTIVATED** FOR UNMANNED ACFT FLYING
WI COORD: 370901N 0064500W - 365650N 0063410W -
365033N 0064303W - 370536N 0070137W - 370719N 0065337W -
370901N 0064500W
AREA 1 GULF OF CADIZ
RMK:
COORDINATION PHONE NUMBER: +33 749960453
OVERFLIGHT CLEARED ONLY ACFT PROPERLY AUTHORIZED, STATE ACFT, ACFT
OF THE FORCES AND CORPS OF STATE SECURITY AND ACFT OF THE
EMERGENCY SERVICES.
THE ACTIVATION/DEACTIVATION OF THIS AREA WILL BE CARRIED OUT
IN REAL TIME BY TACTICAL COORDINATION WITH SEVILLA ACC AND ECAO
SEVILLA.
THE ACTIVATION OF THE AREA WILL BE CONDITIONED TO THE ABSENCE OF
OTHER COINCIDING **ACTIVE** AREAS NEEDING COORDINATION FOR ITS USE
F) SFC G) 08500FT AMSL

D1103/26
MAR 10 2000-2359, MAR 11 0000-0600 2000-2359, MAR 12 24 28 ,
0000-0600, MAR 16-17 20 0700-1700, MAR 23 26 2000-2359, MAR 27 ,
0000-0600 2000-2359, APR 01-02 0600-1600
TEMPO SEGREGATED AREA **ACTIVATED** FOR UNMANNED ACFT FLYING
WI COORD: WI COORD: 370044N 0063520W - 365745N 0063027W -
365542N 0062832W - 365338N 0062637W - 365209N 0062551W -
365040N 0062505W - 364811N 0062352W - 364651N 0062344W -
364619N 0062337W - 364606N 0062451W - 364549N 0062621W -
365158N 0062938W - 365400N 0063132W - 365601N 0063327W -
370008N 0063706W - 370044N 0063520W
AREA 1A GOLFO DE CADIZ
RMK:
COORDINATION PHONE NUMBER: +33 749960453
OVERFLIGHT CLEARED ONLY ACFT PROPERLY AUTHORIZED, STATE ACFT, ACFT
OF THE FORCES AND CORPS OF STATE SECURITY AND ACFT OF THE
EMERGENCY SERVICES.
THE ACTIVATION/DEACTIVATION OF THIS AREA WILL BE CARRIED OUT
IN REAL TIME BY TACTICAL COORDINATION WITH SEVILLA ACC AND ECAO
SEVILLA.
THE ACTIVATION OF THE AREA WILL BE CONDITIONED TO THE ABSENCE OF
OTHER COINCIDING **ACTIVE** AREAS NEEDING COORDINATION FOR ITS USE
F) SFC G) 01500FT AMSL

D1104/26
MAR 10 2000-2359, MAR 11 0000-0600 2000-2359, MAR 12 24 28 ,
0000-0600, MAR 16-17 20 0700-1700, MAR 23 26 2000-2359, MAR 27 ,
0000-0600 2000-2359, APR 01-02 0600-1600
TEMPO SEGREGATED AREA **ACTIVATED** FOR UNMANNED ACFT FLYING
WI COORD: 370913N 0065724W - 370719N 0065337W -
370536N 0070137W - 370229N 0072130W - 365808N 0072129W -
365758N 0072258W - 370652N 0072259W - 370913N 0065724W
AREA 2 GULF OF CADIZ
RMK:
COORDINATION PHONE NUMBER: +33 749960453
OVERFLIGHT CLEARED ONLY ACFT PROPERLY AUTHORIZED, STATE ACFT, ACFT
OF THE FORCES AND CORPS OF STATE SECURITY AND ACFT OF THE
EMERGENCY SERVICES.
THE ACTIVATION/DEACTIVATION OF THIS AREA WILL BE CARRIED OUT
IN REAL TIME BY TACTICAL COORDINATION WITH SEVILLA ACC AND ECAO
SEVILLA.
THE ACTIVATION OF THE AREA WILL BE CONDITIONED TO THE ABSENCE OF
OTHER COINCIDING **ACTIVE** AREAS NEEDING COORDINATION FOR ITS USE
F) SFC G) 08500FT AMSL

D1108/26
MAR 10 2000-2359, MAR 11 0000-0600 2000-2359, MAR 12 24 28 ,
0000-0600, MAR 23 26 2000-2359, APR 01-02 0600-1600
TEMPO SEGREGATED AREA **ACTIVATED** FOR UNMANNED ACFT
FLYING WI COORD: 362326N 0062706W - 362234N 0062038W -
362413N 0061359W - 361051N 0060453W - 360000N 0060000W -
360000N 0060738W - 360412N 0061551W - 362556N 0063205W -
362326N 0062706W
AREA 9 GULF OF CADIZ
RMK:
COORDINATION PHONE NUMBER: +33 749960453
OVERFLIGHT CLEARED ONLY ACFT PROPERLY AUTHORIZED, STATE ACFT, ACFT
OF THE FORCES AND CORPS OF STATE SECURITY AND ACFT OF THE
EMERGENCY SERVICES.
THE ACTIVATION/DEACTIVATION OF THIS AREA WILL BE CARRIED OUT
IN REAL TIME BY TACTICAL COORDINATION WITH SEVILLA ACC AND ECAO
SEVILLA.
THE ACTIVATION OF THE AREA WILL BE CONDITIONED TO THE ABSENCE OF
OTHER COINCIDING **ACTIVE** AREAS NEEDING COORDINATION FOR ITS USE
F) SFC G) 05500FT AMSL

D1109/26
MAR 10 2000-2359, MAR 11 0000-0600 2000-2359, MAR 12 24 28 ,
0000-0600, MAR 23 26 2000-2359, MAR 27 0000-0600 2000-2359, MAR ,
16-17 20 0700-1700, APR 01-02 0600-1600
TEMPO SEGREGATED AREA **ACTIVATED** FOR UNMANNED ACFT
FLYING WI COOOD
360000N 0060738W
360000N 0060000W
360000N 0053941W
355400N 0053748W
355401N 0060854W
355809N 0060402W
360000N 0060738W
AREA 9 GULF OF CADIZ
RMK:
COORDINATION PHONE NUMBER: +33 749960453
OVERFLIGHT CLEARED ONLY ACFT PROPERLY AUTHORIZED, STATE ACFT, ACFT
OF THE FORCES AND CORPS OF STATE SECURITY AND ACFT OF THE
EMERGENCY SERVICES.
THE ACTIVATION/DEACTIVATION OF THIS AREA WILL BE CARRIED OUT
IN REAL TIME BY TACTICAL COORDINATION WITH SEVILLA ACC AND ECAO
SEVILLA.
THE ACTIVATION OF THE AREA WILL BE CONDITIONED TO THE ABSENCE OF
OTHER COINCIDING **ACTIVE** AREAS NEEDING COORDINATION FOR ITS USE
F) SFC G) 04500FT AMSL

D1114/26
MAR 10 2000-2359, MAR 11 0000-0600 2000-2359, MAR 12 24 28 ,
0000-0600, MAR 23 26 2000-2359, MAR 27 0000-0600 2000-2359, MAR ,
16-17 20 0700-1700, APR 01-02 0600-1600
TEMPO SEGREGATED AREA **ACTIVATED** FOR UNMANNED ACFT
FLYING WI COOOD
371152N 0070615W
371143N 0070147W
370913N 0065724W
370652N 0072259W
370849N 0072259W
371001N 0072044W
371131N 0071634W
371142N 0071237W
371152N 0070615W
AREA 11 GULF OF CADIZ
RMK:
COORDINATION PHONE NUMBER: +33 749960453
OVERFLIGHT CLEARED ONLY ACFT PROPERLY AUTHORIZED, STATE ACFT, ACFT
OF THE FORCES AND CORPS OF STATE SECURITY AND ACFT OF THE
EMERGENCY SERVICES.
THE ACTIVATION/DEACTIVATION OF THIS AREA WILL BE CARRIED OUT
IN REAL TIME BY TACTICAL COORDINATION WITH SEVILLA ACC AND ECAO
SEVILLA.
THE ACTIVATION OF THE AREA WILL BE CONDITIONED TO THE ABSENCE OF
OTHER COINCIDING **ACTIVE** AREAS NEEDING COORDINATION FOR ITS USE
F) SFC G) 02000FT AMSL

D1116/26
MAR 10 2000-2359, MAR 11 0000-0600 2000-2359, MAR 12 24 28 ,
0000-0600, MAR 23 26 2000-2359, MAR 27 0000-0600 2000-2359, MAR ,
16-17 20 0700-1700, APR 01-02 0600-1600
TEMPO SEGREGATED AREA **ACTIVATED** FOR UNMANNED ACFT
FLYING WI COOOD
365650N 0063410W
365601N 0063327W
364923N 0064303W
365033N 0064303W
365650N 0063410W
CORRIDOR C GULF OF CADIZ
RMK:
COORDINATION PHONE NUMBER: +33 749960453
OVERFLIGHT CLEARED ONLY ACFT PROPERLY AUTHORIZED, STATE ACFT, ACFT
OF THE FORCES AND CORPS OF STATE SECURITY AND ACFT OF THE
EMERGENCY SERVICES.
THE ACTIVATION/DEACTIVATION OF THIS AREA WILL BE CARRIED OUT
IN REAL TIME BY TACTICAL COORDINATION WITH SEVILLA ACC AND ECAO
SEVILLA.
THE ACTIVATION OF THE AREA WILL BE CONDITIONED TO THE ABSENCE OF
OTHER COINCIDING **ACTIVE** AREAS NEEDING COORDINATION FOR ITS USE
F) SFC G) 02000FT AMSL

D1120/26
MAR 10 2000-2359, MAR 11 0000-0600 2000-2359, MAR 12 24 28 ,
0000-0600, MAR 23 26 2000-2359, MAR 27 0000-0600 2000-2359, MAR ,
16-17 20 0700-1700, APR 01-02 0600-1600
TEMPO SEGREGATED AREA **ACTIVATED** FOR UNMANNED ACFT
FLYING WI COOOD
371546N 0060100W
370304N 0060100W
365413N 0060626W
364725N 0062347W
364726N 0062348W
364811N 0062352W
365040N 0062505W
365209N 0062551W
365338N 0062637W
365542N 0062832W
365543N 0062833W
365805N 0061705W
370625N 0061059W
371428N 0061102W
371546N 0060100W
AREA 12 GUADALQUIVIR GOLFO DE CADIZ
RMK:
COORDINATION PHONE NUMBER: +33 749960453
OVERFLIGHT CLEARED ONLY ACFT PROPERLY AUTHORIZED, STATE ACFT, ACFT
OF THE FORCES AND CORPS OF STATE SECURITY AND ACFT OF THE
EMERGENCY SERVICES.
THE ACTIVATION/DEACTIVATION OF THIS AREA WILL BE CARRIED OUT
IN REAL TIME BY TACTICAL COORDINATION WITH SEVILLA ACC AND ECAO
SEVILLA.
THE ACTIVATION OF THE AREA WILL BE CONDITIONED TO THE ABSENCE OF
OTHER COINCIDING **ACTIVE** AREAS NEEDING COORDINATION FOR ITS USE
F) SFC G) 01000FT AMSL

D1123/26
MAR 10 2000-2359, MAR 11 0000-0600 2000-2359, MAR 12 24 28 ,
0000-0600, MAR 23 26 2000-2359, MAR 27 0000-0600 2000-2359
TEMPO SEGREGATED AREA **ACTIVATED** FOR UNMANNED ACFT FLYING
WI COORD WI COORD:
360000N 0052813W
355959N 0050417W
355001N 0050103W
355001N 0051513W
355532N 0051531W
355654N 0052854W
355401N 0053755W
355713N 0053850W
360000N 0052813W
AREA R-12 MAR DE ALBORAN
RMK:
COORDINATION PHONE NUMBER: +33 749960453
OVERFLIGHT CLEARED ONLY ACFT PROPERLY AUTHORIZED, STATE ACFT, ACFT
OF THE FORCES AND CORPS OF STATE SECURITY AND ACFT OF THE
EMERGENCY SERVICES.
THE ACTIVATION/DEACTIVATION OF THIS AREA WILL BE CARRIED OUT
IN REAL TIME BY TACTICAL COORDINATION WITH SEVILLA ACC AND ECAO
SEVILLA.
THE ACTIVATION OF THE AREA WILL BE CONDITIONED TO THE ABSENCE OF
OTHER COINCIDING **ACTIVE** AREAS NEEDING COORDINATION FOR ITS USE
F) SFC G) 04500FT AMSL

D1127/26
MAR 10 2000-2359, MAR 11 0000-0600 2000-2359, MAR 12 24 28 ,
0000-0600, MAR 23 26 2000-2359, MAR 27 0000-0600 2000-2359, APR ,
01-02 0600-1600
TEMPO **DANGER** AREA FOR UNMANNED ACFT **ACTIVATED** FLYING
WI COORD:
365942N 0070628W
365033N 0064303W
362000N 0072130W
365808N 0072129W
365942N 0070628W
AREA 3B GULF OF CADIZ
RMK:
COORDINATION PHONE NUMBER: +33 749960453
OVERFLIGHT CLEARED ONLY ACFT PROPERLY AUTHORIZED, STATE ACFT, ACFT
OF THE FORCES AND CORPS OF STATE SECURITY AND ACFT OF THE
EMERGENCY SERVICES.
THE ACTIVATION/DEACTIVATION OF THIS AREA WILL BE CARRIED OUT
IN REAL TIME BY TACTICAL COORDINATION WITH SEVILLA ACC AND ECAO
SEVILLA.
HE ACTIVATION OF THE AREA WILL BE CONDITIONED TO THE ABSENCE OF
OTHER COINCIDING **ACTIVE** AREAS NEEDING COORDINATION FOR ITS USE
F) SFC G) 08500FT AMSL

D1140/26
MAR 10 23 26 2000-2359, MAR 11 27 0000-0600 2000-2359, MAR 12 24 ,
28 0000-0600, MAR 16-17 0700-1700, APR 01-02 0600-1600
TEMPO **DANGER** AREA FOR UNMANNED ACFT **ACTIVATED** FLYING
WI COORD:
362007N 0072303W
362000N 0072130W
361418N 0064302W
361330N 0063800W
355359N 0064203W
355400N 0072301W
362007N 0072303W.
AREA 6 GULF OF CADIZ.
RMK:
COORDINATION PHONE NUMBER: +33 749960453
OVERFLIGHT CLEARED ONLY ACFT PROPERLY AUTHORIZED, STATE ACFT, ACFT
OF THE FORCES AND CORPS OF STATE SECURITY AND ACFT OF THE
EMERGENCY SERVICES.
THE ACTIVATION/DEACTIVATION OF THIS AREA WILL BE CARRIED OUT
IN REAL TIME BY TACTICAL COORDINATION WITH SEVILLA ACC AND ECAO
SEVILLA.
HE ACTIVATION OF THE AREA WILL BE CONDITIONED TO THE ABSENCE OF
OTHER COINCIDING **ACTIVE** AREAS NEEDING COORDINATION FOR ITS USE
F) SFC G) 08500FT AMSL

D1144/26
MAR 10 2000-2359, MAR 11 0000-0600 2000-2359, MAR 12 24 28 ,
0000-0600, MAR 16-17 20 0700-1700, MAR 23 26 2000-2359, MAR 27 ,
0000-0600 2000-2359, APR 01-02 0600-1600
TEMPO **DANGER** AREA FOR UNMANNED ACFT **ACTIVATED**
WI COORD 360000N 0062131W - 360000N 0060738W -
355808N 0060401W - 355400N 0060854W - 355400N 0064203W -
355849N 0064103W - 355846N 0062149W - 360000N 0062131W
AREA 8 GULF OF CADIZ
RMK:
COORDINATION PHONE NUMBER: +33 749960453
OVERFLIGHT CLEARED ONLY ACFT PROPERLY AUTHORIZED, STATE ACFT, ACFT
OF THE FORCES AND CORPS OF STATE SECURITY AND ACFT OF THE
EMERGENCY SERVICES.
THE ACTIVATION/DEACTIVATION OF THIS AREA WILL BE CARRIED OUT
IN REAL TIME BY TACTICAL COORDINATION WITH SEVILLA ACC AND ECAO
SEVILLA.
THE ACTIVATION OF THE AREA WILL BE CONDITIONED TO THE ABSENCE OF
OTHER COINCIDING **ACTIVE** AREAS NEEDING COORDINATION FOR ITS USE
F) SFC G) 04500FT AMSL

D1145/26
MAR 10 2000-2359, MAR 11 0000-0600 2000-2359, MAR 12 24 28 ,
0000-0600, MAR 16-17 20 0700-1700, MAR 23 26 2000-2359, MAR 27 ,
0000-0600 2000-2359, APR 01-02 0600-1600
TEMPO **DANGER** AREA FOR UNMANNED ACFT **ACTIVATED**
WI COORD 365758N 0072258W - 365808N 0072129W -
362000N 0072130W - 362007N 0072303W - 365758N 0072258W
CORRIDOR B GULF OF CADIZ
RMK:
COORDINATION PHONE NUMBER: +33 749960453
OVERFLIGHT CLEARED ONLY ACFT PROPERLY AUTHORIZED, STATE ACFT, ACFT
OF THE FORCES AND CORPS OF STATE SECURITY AND ACFT OF THE
EMERGENCY SERVICES.
THE ACTIVATION/DEACTIVATION OF THIS AREA WILL BE CARRIED OUT
IN REAL TIME BY TACTICAL COORDINATION WITH SEVILLA ACC AND ECAO
SEVILLA.
THE ACTIVATION OF THE AREA WILL BE CONDITIONED TO THE ABSENCE OF
OTHER COINCIDING **ACTIVE** AREAS NEEDING COORDINATION FOR ITS USE
F) SFC G) 08500FT AMSL

D1147/26
MAR 10 2000-2359, MAR 11 0000-0600 2000-2359, MAR 12 24 ,
0000-0600, MAR 23 26 2000-2359, MAR 27 0000-0600 2000-2359, MAR 28
, 0000-0600
TEMPO **DANGER** AREA FOR UNMANNED ACFT **ACTIVATED**
WI COORD 361622N 0045006W - 355959N 0045001W -
355959N 0050417W - 360615N 0050620W - 361432N 0050039W -
361607N 0045504W - 361622N 0045006W
AREA R-14B MAR DE ALBORAN
RMK:
COORDINATION PHONE NUMBER: +33 749960453
OVERFLIGHT CLEARED ONLY ACFT PROPERLY AUTHORIZED, STATE ACFT, ACFT
OF THE FORCES AND CORPS OF STATE SECURITY AND ACFT OF THE
EMERGENCY SERVICES.
THE ACTIVATION/DEACTIVATION OF THIS AREA WILL BE CARRIED OUT
IN REAL TIME BY TACTICAL COORDINATION WITH SEVILLA ACC AND ECAO
SEVILLA.
THE ACTIVATION OF THE AREA WILL BE CONDITIONED TO THE ABSENCE OF
OTHER COINCIDING **ACTIVE** AREAS NEEDING COORDINATION FOR ITS USE
F) SFC G) 01500FT AMSL

D1148/26
MAR 10 2000-2359, MAR 11 0000-0600 2000-2359, MAR 12 24 ,
0000-0600, MAR 23 26 2000-2359, MAR 27 0000-0600 2000-2359, MAR 28
, 0000-0600
TEMPO **DANGER** AREA FOR UNMANNED ACFT **ACTIVATED**
WI COORD 355959N 0050417W - 355959N 0044641W -
355001N 0045358W - 355001N 0050103W - 355959N 0050417W
AREA D-13 MAR DE ALBORAN
RMK:
COORDINATION PHONE NUMBER: +33 749960453
OVERFLIGHT CLEARED ONLY ACFT PROPERLY AUTHORIZED, STATE ACFT, ACFT
OF THE FORCES AND CORPS OF STATE SECURITY AND ACFT OF THE
EMERGENCY SERVICES.
THE ACTIVATION/DEACTIVATION OF THIS AREA WILL BE CARRIED OUT
IN REAL TIME BY TACTICAL COORDINATION WITH SEVILLA ACC AND ECAO
SEVILLA.
THE ACTIVATION OF THE AREA WILL BE CONDITIONED TO THE ABSENCE OF
OTHER COINCIDING **ACTIVE** AREAS NEEDING COORDINATION FOR ITS USE
F) SFC G) 04500FT AMSL

D1150/26
MAR 10 2000-2359, MAR 11 0000-0600 2000-2359, MAR 12 24 ,
0000-0600, MAR 23 26 2000-2359, MAR 27 0000-0600 2000-2359, MAR 28
, 0000-0600
TEMPO **DANGER** AREA FOR UNMANNED ACFT **ACTIVATED**
WI COORD WI COORD 361152N 0043758W - 361049N 0040142W -
355035N 0034214W - 355001N 0045359W - 361152N 0043758W
AREA D-17 MAR DE ALBORAN
RMK:
COORDINATION PHONE NUMBER: +33 749960453
OVERFLIGHT CLEARED ONLY ACFT PROPERLY AUTHORIZED, STATE ACFT, ACFT
OF THE FORCES AND CORPS OF STATE SECURITY AND ACFT OF THE
EMERGENCY SERVICES.
THE ACTIVATION/DEACTIVATION OF THIS AREA WILL BE CARRIED OUT
IN REAL TIME BY TACTICAL COORDINATION WITH SEVILLA ACC AND ECAO
SEVILLA.
THE ACTIVATION OF THE AREA WILL BE CONDITIONED TO THE ABSENCE OF
OTHER COINCIDING **ACTIVE** AREAS NEEDING COORDINATION FOR ITS USE
F) SFC G) 04500FT AMSL

D1151/26
MAR 10 2000-2359, MAR 11 0000-0600 2000-2359, MAR 12 24 ,
0000-0600, MAR 23 26 2000-2359, MAR 27 0000-0600 2000-2359, MAR 28
, 0000-0600
TEMPO **DANGER** AREA FOR UNMANNED ACFT **ACTIVATED**
WI COORD 361949N 0045007W - 361226N 0043807W -
361152N 0043758W - 355959N 0044641W - 355959N 0045001W -
361949N 0045007W
AREA D-15 MAR DE ALBORAN
RMK:
COORDINATION PHONE NUMBER: +33 749960453
OVERFLIGHT CLEARED ONLY ACFT PROPERLY AUTHORIZED, STATE ACFT, ACFT
OF THE FORCES AND CORPS OF STATE SECURITY AND ACFT OF THE
EMERGENCY SERVICES.
THE ACTIVATION/DEACTIVATION OF THIS AREA WILL BE CARRIED OUT
IN REAL TIME BY TACTICAL COORDINATION WITH SEVILLA ACC AND ECAO
SEVILLA.
THE ACTIVATION OF THE AREA WILL BE CONDITIONED TO THE ABSENCE OF
OTHER COINCIDING **ACTIVE** AREAS NEEDING COORDINATION FOR ITS USE
F) SFC G) 03350FT AMSL

D1165/26
MAR 10 2000-2359, MAR 11 0000-0600 2000-2359, MAR 12 24 28 ,
0000-0600, MAR 23 26 2000-2359, MAR 27 0000-0600 2000-2359, APR ,
01-02 0600-1600
TEMPO SEGREGATED AREA **ACTIVATED** FOR UNMANNED ACFT FLYING
WI COORD: 370536N 0070137W - 365033N 0064303W -
365942N 0070628W - 365808N 0072129W - 370229N 0072130W -
370536N 0070137W
AREA 3A GULF OF CADIZ
RMK:
COORDINATION PHONE NUMBER: +33 749960453
OVERFLIGHT CLEARED ONLY ACFT PROPERLY AUTHORIZED, STATE ACFT, ACFT
OF THE FORCES AND CORPS OF STATE SECURITY AND ACFT OF THE
EMERGENCY SERVICES.
THE ACTIVATION/DEACTIVATION OF THIS AREA WILL BE CARRIED OUT
IN REAL TIME BY TACTICAL COORDINATION WITH SEVILLA ACC AND ECAO
SEVILLA.
THE ACTIVATION OF THE AREA WILL BE CONDITIONED TO THE ABSENCE OF
OTHER COINCIDING **ACTIVE** AREAS NEEDING COORDINATION FOR ITS USE
F) SFC G) 08500FT AMSL

D0936/26
10-12 24-26 31 1700-2359
LED90B **ACTIVATED** FOR AIR OPS
UPPER VERTICAL LIMIT MODIFIED
RMK: THE ACTIVATION/DEACTIVATION OF THIS AREA WILL BE CARRIED OUT
IN REAL TIME BY TACTICAL COORDINATION WITH ECAO (OPERATIVE
AIR TRAFFIC SQUADRON) SEVILLA
F) SFC G) 03000FT AMSL

D0937/26
10 24 1700-2359, 11-12 25-26 31 2000-2359
LED90C **ACTIVATED** FOR AIR OPS
UPPER VERTICAL LIMIT MODIFIED
RMK: THE ACTIVATION/DEACTIVATION OF THIS AREA WILL BE CARRIED OUT
IN REAL TIME BY TACTICAL COORDINATION WITH ECAO (OPERATIVE
AIR TRAFFIC SQUADRON) SEVILLA
F) SFC G) 03000FT AMSL

D1130/26
0700-1900
LED14 **ACTIVATED** FOR REAL GUN FIRING
UPPER VERTICAL LIMIT MODIFIED
RMK: THE AREA WILL BE TREATED AS TSA.
THE ACTIVATION/DEACTIVATION OF THIS AREA WILL BE CARRIED OUT
IN REAL TIME BY TACTICAL COORDINATION WITH ECAO (OPERATIVE
AIR TRAFFIC SQUADRON) MADRID.
F) SFC G) 10000FT AMSL

D1087/26
09-13 16-20 23-27 0830-1400
TEMPORARY SEGREGATED AREA FOR UNMANNED AIRCRAFT VEHICLES
FLYING **ACTIVATED** WI 424000N 0055050W, 425113N 0054146W,
425117N 0060432W, 424704N 0061449W, 423959N 0061439W,
424000N 0055050W
LEON/GROSA-HOLDING ZONE
RMK: THE ACTIVATION/DEACTIVATION OF THIS AREA WILL BE CARRIED OUT
IN REAL TIME BY TACTICAL COORDINATION WITH LEON TWR AND WITH
ECAO (OPERATIVE AIR TRAFFIC SQUADRON) MADRID.
F) 05000FT AMSL G) FL100

D1092/26
09-13 16-20 23-27 0830-1400
TEMPORARY SEGREGATED AREA FOR UNMANNED AIRCRAFT VEHICLES
FLYING **ACTIVATED** WI 422726N 0064355W, 423905N 0061544W,
423021N 0060859W, 422121N 0062349W, 421840N 0061723W,
422256N 0060213W, 420536N 0054903W, 415951N 0060938W,
422726N 0064355W
LEON/GROSA-WORKING ZONE 3-TELENO
RMK: THE ACTIVATION/DEACTIVATION OF THIS AREA WILL BE CARRIED OUT
IN REAL TIME BY TACTICAL COORDINATION WITH LEON TWR AND WITH
ECAO (OPERATIVE AIR TRAFFIC SQUADRON) MADRID.
F) FL080 G) FL155

D1089/26
09-13 16-20 23-27 0830-1400
TEMPORARY SEGREGATED AREA FOR UNMANNED AIRCRAFT VEHICLES
FLYING **ACTIVATED** WI 430113N 0063844W, 430113N 0060733W,
423847N 0060727W, 423857N 0061539W, 423321N 0062933W,
430113N 0063844W
LEON/GROSA-WORKING ZONE 1 LOW-VILLABLINO
RMK: THE ACTIVATION/DEACTIVATION OF THIS AREA WILL BE CARRIED OUT
IN REAL TIME BY TACTICAL COORDINATION WITH LEON TWR AND WITH
ECAO (OPERATIVE AIR TRAFFIC SQUADRON) MADRID.
F) FL080 G) FL135

D1090/26
09-13 16-20 23-27 0830-1400
TEMPORARY SEGREGATED AREA FOR UNMANNED AIRCRAFT VEHICLES
FLYING **ACTIVATED** WI 430113N 0063844W, 430110N 0062345W,
423855N 0061539W, 423321N 0062933W, 430113N 0063844W
LEON/GROSA-WORKING ZONE 1 HIGH-VILLABLINO
RMK: THE ACTIVATION/DEACTIVATION OF THIS AREA WILL BE CARRIED OUT
IN REAL TIME BY TACTICAL COORDINATION WITH LEON TWR AND WITH
ECAO (OPERATIVE AIR TRAFFIC SQUADRON) MADRID.
F) FL125 G) FL155

D1091/26
09-13 16-20 23-27 0830-1400
TEMPORARY SEGREGATED AREA FOR UNMANNED AIRCRAFT VEHICLES
FLYING **ACTIVATED** WI 423024N 0062152W, 430223N 0063153W,
425513N 0065028W, 424532N 0070231W, 422324N 0063858W,
423024N 0062152W
LEON/GROSA-WORKING ZONE 2-BIERZO
RMK: THE ACTIVATION/DEACTIVATION OF THIS AREA WILL BE CARRIED OUT
IN REAL TIME BY TACTICAL COORDINATION WITH LEON TWR AND WITH
ECAO (OPERATIVE AIR TRAFFIC SQUADRON) MADRID.
F) FL080 G) FL155

D1137/26
0800-2100
TEMPO SEGREGATED AREA **ACTIVATED** FOR UAS WI COORD:
402340N 0035237W
402643N 0035330W
402647N 0035034W
402358N 0035036W
402340N 0035237W
BOADILLA DEL MONTE, MADRID
F) SFC G) 00030M AGL

D1117/26
SR-SS
TEMPO SEGREGATED AREA **ACTIVATED** FOR UAS WI COORD:
383352N 0025516W
384259N 0025426W
384321N 0024907W
384428N 0024822W
384516N 0024813W
384514N 0024452W
383728N 0023213W
382959N 0023238W
383021N 0023819W
383219N 0023936W
383256N 0024651W
383404N 0024707W
383444N 0025152W
383352N 0025516W
ALBALADEJO, CIUDAD REAL.
RMK:
COORDINATION PHONE NUMBER: +34 948 572 230 / +34 669 408 833
COORDINATION MAIL: COORDINACIONES(AT)FUVEX.COM
F) SFC G) 00100M AGL

D1027/26
09-22 SR-SS, 28-31 SR-SS
TEMPO SEGREGATED AREA **ACTIVATED** FOR UNMANNED ACFT FLYING
WI COORD 394850N 0012112W - 395543N 0011127W -
395739N 0011112W - 400033N 0011605W - 395749N 0011806W -
400121N 0012137W - 400409N 0013241W - 395927N 0013249W -
395925N 0013007W - 395739N 0012813W - 395534N 0012839W -
395220N 0013132W - 395127N 0013032W - 395201N 0012526W -
394920N 0012455W - 394810N 0012250W - 394859N 0012204W -
394850N 0012112W
LANDETE, CUENCA
RMK:
COORDINATION PHONE NUMBER: +34 636 440 147 / +34 669 408 833
COORDINATION MAIL: COORDINACIONES(AT)FUVEX.COM
F) SFC G) 00100M AGL

D0650/26
0633-1823
TEMPO SEGREGATED AREA **ACTIVATED** FOR UNMANNED ACFT FLYING
WI COORD 411703N 0020839W - 411912N 0020837W - 411904N 0015538W -
411653N 0015537W - 411703N 0020839W
ARIZA, ZARAGOZA
RMK:
CORDINATION PHONE NUMBER: +34 636 440 147 / +34 669 408 833
CORDINATION MAIL: COORDINACIONES(AT)FUVEX.COM
F) SFC G) 00100M AGL

D1121/26
SR-SS
TEMPO SEGREGATED AREA **ACTIVATED** FOR UAS WI COORD:
403148N 0045405W
403208N 0045333W
403208N 0045204W
403111N 0045205W
403112N 0045349W
403148N 0045405W
CASTRO DE ULACA, AVILA.
RMK:
COORDINATION PHONE NUMBER: +34 687 290 341 / +34 619 804 254
COORDINATION MAIL: C.RODRIGUEZ(AT)INVICSA-AIRTECH.COM
F) SFC G) 00120M AGL

D0627/26
06 09 11 13 16 18 20 23 27 0730-1400, 10 12 17 19 26 0730-1700
LED90B **ACTIVATED** FOR REAL GUN FIRING
UPPER VERTICAL LIMIT MODIFIED.
RMK: THE AREA WILL BE TREATED AS TSA.
THE ACTIVATION/DEACTIVATION OF THIS AREA WILL BE CARRIED OUT
IN REAL TIME BY TACTICAL COORDINATION WITH ECAO (OPERATIVE
AIR TRAFFIC SQUADRON) SEVILLA.
F) SFC G) 28000FT AMSL

D0703/26
SR-SS
TEMPO RESTRICTED AREA **ACTIVATED** FOR UNMANNED ACFT FLYING
WI COORD 402910N 0014549W - 403315N 0020058W -
404220N 0020919W - 404201N 0021544W - 404746N 0022138W -
405614N 0015938W - 405130N 0015015W - 404310N 0015005W -
403505N 0013917W - 403101N 0013938W - 402910N 0014549W
TARAVILLA, GUADALAJARA
RMK:
CORDINATION PHONE NUMBER: +34 680 836 208/ +34 669 408 833
CORDINATION MAIL: COORDINACIONES(AT)FUVEX.COM
F) SFC G) 00100M AGL

D0702/26
SR-SS
TEMPO SEGREGATED AREA **ACTIVATED** FOR UNMANNED ACFT FLYING
WI COORD 401349N 0015336W - 401349N 0015331W -
401318N 0014905W - 400543N 0013702W - 400338N 0013910W -
400125N 0014633W - 400256N 0015227W - 400709N 0015208W -
401148N 0015501W - 401349N 0015336W
VALDEMORO-SIERRA, CUENCA
RMK:
CORDINATION PHONE NUMBER: +34 680 836 208/ +34 669 408 833
CORDINATION MAIL: COORDINACIONES(AT)FUVEX.COM
F) SFC G) 00100M AGL

D0955/26
03-04 10-12 2030-2150, 09 1400-2150, 30-31 0800-2150
AIR OPERATIONS WI 365531N 0072129W, 370430N 0070731W,
370537N 0070137W, 365033N 0064303W, 362000N 0072130W,
365531N 0072129W
HUELVA/D-121 REDUCIDA
RMK: THE ACTIVATION/DEACTIVATION OF THIS AREA WILL BE CARRIED OUT
IN REAL TIME BY TACTICAL COORDINATION WITH ECAO (OPERATIVE
AIR TRAFFIC SQUADRON) SEVILLA.
F) FL110 G) FL240

D0429/26
03-04 10 12 2030-2150, 30-31 0800-2150
LED122 **ACTIVATED** FOR AIR OPERATIONS
LOWER AND UPPER VERTICAL LIMITS MODIFIED
RMK: THE ACTIVATION/DEACTIVATION OF THIS AREA WILL BE CARRIED OUT
IN REAL TIME BY TACTICAL COORDINATION WITH ECAO (OPERATIVE
AIR TRAFFIC SQUADRON) SEVILLA.
F) FL110 G) FL240

D0430/26
03 10-12 2030-2150, 06 0900-2150, 30-31 0800-2150
LED129 **ACTIVATED** FOR AIR OPERATIONS
LOWER AND UPPER VERTICAL LIMITS MODIFIED
RMK: THE ACTIVATION/DEACTIVATION OF THIS AREA WILL BE CARRIED OUT
IN REAL TIME BY TACTICAL COORDINATION WITH ECAO (OPERATIVE
AIR TRAFFIC SQUADRON) SEVILLA.
F) FL110 G) FL240

D0991/26
TEMPO RESTRICTED AREA **ACTIVATED** FOR UNMANNED ACFT FLYING
WI COORD 402508N 0031757W - 402556N 0031755W -
402526N 0025622W - 402004N 0025900W - 402103N 0030143W -
401939N 0030603W - 402046N 0031245W - 402230N 0031428W -
402246N 0031916W - 402516N 0031849W - 402510N 0031823W -
402508N 0031757W
VILLALBILLA, MADRID
RMK:
PHONE NUMBER: +34 661 810 529
F) 00120M AGL G) 00400M AGL

D0994/26
SR-SS
TEMPO SEGREGATED AREA **ACTIVATED** FOR UNMANNED ACFT
FLYING WI COORD 385130N 0034707W - 385054N 0034423W -
384505N 0033927W - 384213N 0034516W - 384219N 0034657W -
384338N 0034659W - 384801N 0034952W - 385130N 0034707W
GRANATULA DE CALATRAVA, CIUDAD REAL
RMK:
COORDINATION PHONE NUMBER: +34 636 440 147 / +34 669 408 833
COORDINATION MAIL: COORDINACIONES(AT)FUVEX.COM
F) SFC G) 00100M AGL

D0542/26
03 05 10 12 17 19 24 26 31 0700-1200 1400-1900 2000-2359
LETS37 ACT FOR UNMANNED ACFT VEHICLES FLYING
AND REAL GUN FIRING
RMK: THE ACTIVATION/DEACTIVATION OF THIS AREA WILL BE CARRIED OUT
IN REAL TIME BY TACTICAL COORDINATION WITH ECAO (OPERATIVE
AIR TRAFFIC SQUADRON) SEVILLA
F) SFC G) 11000FT AMSL

D0887/26
02 1400-2000, 06 09 16-20 23 0600-0800 1400-2000, 10 12 ,
0700-0800, 13 24-27 0700-2000
AIR OPERATIONS WI 365531N 0072129W, 370430N 0070731W,
370537N 0070137W, 365033N 0064303W, 362000N 0072130W,
365531N 0072129W
HUELVA/D-121 REDUCIDA
RMK: THE ACTIVATION/DEACTIVATION OF THIS AREA WILL BE CARRIED OUT
IN REAL TIME BY TACTICAL COORDINATION WITH ECAO (OPERATIVE
AIR TRAFFIC SQUADRON) SEVILLA
F) SFC G) FL245

D0898/26
02 1200-2000, 03 05 1600-2000, 06 09 11-13 16 18-20 23 25-27 ,
0700-2000, 04 0800-1600
LED90C **ACTIVATED** FOR REAL GUN FIRING AND AIR OPERATIONS
UPPER VERTICAL LIMIT MODIFIED.
RMK: THE AREA WILL BE TREATED AS TSA.
THE ACTIVATION/DEACTIVATION OF THIS AREA WILL BE CARRIED OUT
IN REAL TIME BY TACTICAL COORDINATION WITH ECAO (OPERATIVE
AIR TRAFFIC SQUADRON) SEVILLA.
F) SFC G) FL280

D0884/26
02-05 23-26 0900-1300 1500-2130, 06 0900-1200, 10-12 0900-1300
TEMPORARY SEGREGATED AREA FOR UNMANNED AIRCRAFT
VEHICLE FLYING **ACTIVATED** WI 375103N 0014758W, 375057N 0013901W,
374517N 0013925W, 374501N 0014826W, 375103N 0014758W
MURCIA/ALAGUECES
F) SFC G) 03100FT AMSL

D0602/26
MAR 02-03 06 13 20 27 0800-1400, MAR 05 09-12 16-19 23-26 ,
0800-1400 1800-2300, MAR 30-31 0700-1300 1700-2200, APR 01-02 ,
0700-1300 1700-2200, APR 03 0700-1300
AIR EXERCISES HPMA (HIGH PERFORMANCE MILITARY AIRCRAFT)
WI 422543N 0010839W, 415500N 0001300E, 413643N 0000803E,
413916N 0003659W, 414711N 0003817W, 415636N 0004726W,
415938N 0010354W, 422543N 0010839W
ZARAGOZA/AREA 1-2-3
RMK: IFR FLT ARR/DEP LEHC WILL NOT BE AFFECTED BY THIS ACTIVITY.
RMK: ATS ROUTE P152 SHALL REMAIN FLIGHT PLANNABLE FOR GENERAL
AIR TRAFFIC, OPERATING UNDER TACTICAL COORDINATION
WITH TACC ZARAGOZA.
RMK: THE ACTIVATION/DEACTIVATION OF THIS AREA WILL BE CARRIED OUT
IN REAL TIME BY TACTICAL COORDINATION WITH TACC ZARAGOZA.
F) FL070 G) FL240

D0603/26
MAR 02-03 06 13 20 27 0800-1400, MAR 05 09-12 16-19 23-26 ,
0800-1400 1800-2300, MAR 30-31 0700-1300 1700-2200, APR 01-02 ,
0700-1300 1700-2200, APR 03 0700-1300
AIR EXERCISES HPMA (HIGH PERFORMANCE MILITARY AIRCRAFT)
WI 412300N 0011557W, 410900N 0023000W, 411800N 0023000W,
413525N 0021838W, 413854N 0013000W, 412300N 0011557W ZARAGOZA/AREA
C
RMK: THE ACTIVATION/DEACTIVATION OF THIS AREA WILL BE CARRIED OUT
IN REAL TIME BY TACTICAL COORDINATION WITH TACC ZARAGOZA.
F) FL070 G) FL240

D0155/26
02-06 09 11 13 16 18 20 23 25 27 0730-1400, 10 12 17 19 24 26 ,
0730-1700
FIRING EXERCISES WI 362735N 0061455W, 362704N 0061430W
362639N 0061411W, 361927N 0061334W, 361916N 0061654W
362735N 0061455W
CADIZ/GOLFO DE CADIZ
RMK: THE AREA WILL BE TREATED AS TSA.
THE ACTIVATION/DEACTIVATION OF THIS AREA WILL BE CARRIED OUT
IN REAL TIME BY TACTICAL COORDINATION WITH ECAO (OPERATIVE
AIR TRAFFIC SQUADRON) SEVILLA.
F) SFC G) 16500FT AMSL

D0891/26
02 06 09 13 16-20 23-27 0700-2000, 10-12 0700-0800
AIR OPERATIONS WI 363555N 0064302W, 363451N 0063304W,
361318N 0063800W, 361418N 0064302W, 363555N 0064302W
HUELVA/D-128 REDUCIDA
RMK: EXER MUST BE COORDINATED WITH ECAO (OPERATIVE AIR TRAFFIC
SQUADRON) SEVILLA.
RMK: THE ACTIVATION/DEACTIVATION OF THIS AREA WILL BE CARRIED OUT
IN REAL TIME BY TACTICAL COORDINATION WITH ECAO (OPERATIVE
AIR TRAFFIC SQUADRON) SEVILLA.
F) SFC G) FL245

D0894/26
02 06 09-13 16-20 23-27 0700-2000, 03 05 0700-1100 1600-2000, 04 ,
1100-1600
LED90A **ACTIVATED** FOR REAL GUN FIRING AND AIR OPERATIONS
UPPER VERTICAL LIMIT MODIFIED.
RMK: THE AREA WILL BE TREATED AS TSA.
THE ACTIVATION/DEACTIVATION OF THIS AREA WILL BE CARRIED OUT
IN REAL TIME BY TACTICAL COORDINATION WITH ECAO (OPERATIVE
AIR TRAFFIC SQUADRON) SEVILLA.
F) SFC G) FL280

D0951/26
TEMPORARY SEGREGATED AREAS FOR UNMANNED AIRCRAFT VEHICLES
FLYING **ACTIVATED** AS FOLLOWS:
THE ACTIVATION/DEACTIVATION OF THESE AREAS WILL BE CARRIED OUT
IN REAL TIME BY TACTICAL COORDINATION WITH THE APROPRIATE ECAO
(OPERATIVE AIR TRAFFIC SQUADRON) OR APP IN EACH AREA.
SEGREGATED AREAS:
TSA TALAVERA LOW AUTOMATICO
LATERAL LIMITS: CIRCLE OF 08NM RADIUS CENTRED ON
385329N 0064917W.
VERTICAL LIMITS: SFC/5000FT AMSL
DATES AND TIMES: MAR 17 HR 1930-2359
MAR 18 HR 0000-0700
RMK: EXCEPTED FLT (EMERGENCY SITUATIONS) MUST COORDINATE WITH ATC
UNIT APPROPIATE PROCEDURE, IF DEACTIVATION IS NOT FEASIBLE
BEFORE ENTERING THE AREA.
RMK: ANY FLT INTERESTED IN USING AFFECTED AIRSPACE MUST CONTACT
WITH TALAVERA APP/TWR IN ORDER TO UPDATE ACTIVATION STATUS.
TSA TALAVERA LOW
LATERAL LIMITS: CIRCLE OF 5,9NM RADIUS CENTRED ON
385329N 0064917W.
VERTICAL LIMITS: SFC/2500FT AMSL
LATERAL LIMITS: CIRCLE OF 08NM RADIUS CENTRED ON
385329N 0064917W.
VERTICAL LIMITS: 2500FT/5000FT AMSL
DATES AND TIMES: MAR 17 HR 1930-2359
MAR 18 HR 0000-0700
RMK: EXCEPTED FLT (EMERGENCY SITUATIONS) MUST COORDINATE WITH ATC
UNIT APPROPIATE PROCEDURE, IF DEACTIVATION IS NOT FEASIBLE
BEFORE ENTERING THE AREA.
RMK: ANY FLT INTERESTED IN USING AFFECTED AIRSPACE MUST CONTACT
WITH TALAVERA APP/TWR IN ORDER TO UPDATE ACTIVATION STATUS.
END PART 1 OF 13

TSA TALAVERA LOW NORTH
LATERAL LIMITS: 385658N 0065446W, 385036N 0064303W,
FROM THIS POINT FOLLOWING AN ARC OF 5,9NM
RADIUS CENTRED ON 385329N 0064917W
COUNTER CLOCKWISE UP TO 385658N 0065446W.
VERTICAL LIMITS: SFC/2500FT AMSL
LATERAL LIMITS: 385821N 0065723W, 384911N 0064030W,
FROM THIS POINT FOLLOWING AN ARC OF 08NM
RADIUS CENTRED ON 385329N 0064917W
COUNTER CLOCKWISE UP TO 385821N 0065723W.
VERTICAL LIMITS: 2500FT AMSL/5000FT AMSL
DATES AND TIMES: MAR 17 HR 1930-2359
MAR 18 HR 0000-0700
RMK: EXCEPTED FLT (EMERGENCY SITUATIONS) MUST COORDINATE WITH ATC
UNIT APPROPIATE PROCEDURE, IF DEACTIVATION IS NOT FEASIBLE
BEFORE ENTERING THE AREA.
RMK: ANY FLT INTERESTED IN USING AFFECTED AIRSPACE MUST CONTACT
WITH TALAVERA APP/TWR IN ORDER TO UPDATE ACTIVATION STATUS.
TSA TALAVERA LOW SOUTH
LATERAL LIMITS: 385609N 0065527W, 384948N 0064351W,
FROM THIS POINT FOLLOWING AN ARC OF 5,9NM
RADIUS CENTRED ON 385329N 0064917W
CLOCKWISE UP TO 385609N 0065527W.
VERTICAL LIMITS: SFC/2500FT AMSL
LATERAL LIMITS: 385734N 0065803W, 384821N 0064118W,
FROM THIS POINT FOLLOWING AN ARC OF 08NM
RADIUS CENTRED ON 385329N 0064917W
CLOCKWISE UP TO 385734N 0065803W.

VERTICAL LIMITS: 2500FT AMSL/5000FT AMSL
DATES AND TIMES: MAR 17 HR 1930-2359
MAR 18 HR 0000-0700
RMK: EXCEPTED FLT (EMERGENCY SITUATIONS) MUST COORDINATE WITH ATC
UNIT APPROPIATE PROCEDURE, IF DEACTIVATION IS NOT FEASIBLE
BEFORE ENTERING THE AREA.
RMK: ANY FLT INTERESTED IN USING AFFECTED AIRSPACE MUST CONTACT
WITH TALAVERA APP/TWR IN ORDER TO UPDATE ACTIVATION STATUS.
TSA TALAVERA MEDIUM
LATERAL LIMITS: CIRCLE OF 08NM RADIUS CENTRED ON
385329N 0064917W.
VERTICAL LIMITS: 4000FT AMSL/FL080
DATES AND TIMES: MAR 17 HR 1930-2359
MAR 18 HR 0000-0700
RMK: EXCEPTED FLT (EMERGENCY SITUATIONS) MUST COORDINATE WITH ATC
UNIT APPROPIATE PROCEDURE, IF DEACTIVATION IS NOT FEASIBLE
BEFORE ENTERING THE AREA.
RMK: ANY FLT INTERESTED IN USING AFFECTED AIRSPACE MUST CONTACT
WITH TALAVERA APP/TWR IN ORDER TO UPDATE ACTIVATION STATUS.
TSA TALAVERA HIGH
LATERAL LIMITS: 391229N 0064931W, 390454N 0062537W,
383332N 0064905W, 384300N 0070639W,
391229N 0064931W.
VERTICAL LIMITS: 7000FT AMSL/FL140
DATES AND TIMES: MAR 17 HR 1930-2359
MAR 18 HR 0000-0700
RMK: ANY FLT INTERESTED IN USING AFFECTED AIRSPACE MUST CONTACT
WITH TALAVERA APP/TWR IN ORDER TO UPDATE ACTIVATION STATUS.
TSA TALAVERA HIGH SOUTH
LATERAL LIMITS: 384300N 0070639W, 383332N 0064905W,

384953N 0063651W, 385525N 0065926W,
384300N 0070639W.
VERTICAL LIMITS: 7000FT AMSL/FL140
DATES AND TIMES: MAR 17 HR 1930-2359
MAR 18 HR 0000-0700
RMK: ANY FLT INTERESTED IN USING AFFECTED AIRSPACE MUST CONTACT
WITH TALAVERA APP/TWR IN ORDER TO UPDATE ACTIVATION STATUS.
TSA TALAVERA HIGH NORTH
LATERAL LIMITS: 391229N 0064932W, 390454N 0062537W,
384953N 0063651W, 385525N 0065926W,
391229N 0064932W.
VERTICAL LIMITS: 7000FT AMSL/FL140
DATES AND TIMES: MAR 17 HR 1930-2359
MAR 18 HR 0000-0700
RMK: ANY FLT INTERESTED IN USING AFFECTED AIRSPACE MUST CONTACT
WITH TALAVERA APP/TWR IN ORDER TO UPDATE ACTIVATION STATUS.
TSA LAST SIX LOW
LATERAL LIMITS: CIRCLE OF 04NM RADIUS CENTRED ON
390120N 0064400W.
VERTICAL LIMITS: SFC/FL260
DATES AND TIMES: MAR 17 HR 1930-2359
MAR 18 HR 0000-0700
RMK: ANY FLT INTERESTED IN USING AFFECTED AIRSPACE MUST CONTACT
WITH TALAVERA APP/TWR IN ORDER TO UPDATE ACTIVATION STATUS.
TSA LAST SIX HIGH
LATERAL LIMITS: CIRCLE OF 04NM RADIUS CENTRED ON
390120N 0064400W.
VERTICAL LIMITS: FL250/FL350
DATES AND TIMES: MAR 17 HR 1930-2359
MAR 18 HR 0000-0700

RMK: ANY FLT INTERESTED IN USING AFFECTED AIRSPACE MUST CONTACT
WITH TALAVERA APP/TWR IN ORDER TO UPDATE ACTIVATION STATUS.

TSA SECTOR 5
LATERAL LIMITS: 381410N 0065147W, 381134N 0070505W,
382701N 0071726W, 384416N 0071216W,
384728N 0065940W, 384459N 0065521W,
384308N 0064814W, 381410N 0065147W.
VERTICAL LIMITS: FL100/FL350
DATES AND TIMES: MAR 17 HR 1930-2359
MAR 18 HR 0000-0700
RMK: ANY FLT INTERESTED IN USING AFFECTED AIRSPACE MUST CONTACT
WITH TALAVERA APP/TWR IN ORDER TO UPDATE ACTIVATION STATUS.
TSA SECTOR 5 LOW
LATERAL LIMITS: 381410N 0065147W, 381134N 0070505W,
382701N 0071726W, 384416N 0071216W,
384728N 0065940W, 384459N 0065521W,
384308N 0064814W, 381410N 0065147W.
VERTICAL LIMITS: FL100/FL150
DATES AND TIMES: MAR 17 HR 1930-2359
MAR 18 HR 0000-0700
RMK: ANY FLT INTERESTED IN USING AFFECTED AIRSPACE MUST CONTACT
WITH TALAVERA APP/TWR IN ORDER TO UPDATE ACTIVATION STATUS.
TSA SECTOR 5 HIGH
LATERAL LIMITS: 381410N 0065147W, 381134N 0070505W,
382701N 0071726W, 384416N 0071216W,
384728N 0065940W, 384459N 0065521W,
384308N 0064814W, 381410N 0065147W.
VERTICAL LIMITS: FL150/FL350
DATES AND TIMES: MAR 17 HR 1930-2359
MAR 18 HR 0000-0700
RMK: ANY FLT INTERESTED IN USING AFFECTED AIRSPACE MUST CONTACT
END PART 5 OF 13

WITH TALAVERA APP/TWR IN ORDER TO UPDATE ACTIVATION
STATUS. TSA ZAFRA EAST
LATERAL LIMITS: 383208N 0055329W, 380625N 0060155W,
375951N 0060826W, 383800N 0063728W,
383951N 0063412W, 384401N 0063002W,
383208N 0055329W.
VERTICAL LIMITS: FL260/FL350
DATES AND TIMES: MAR 17 HR 1930-2359
MAR 18 HR 0000-0700
RMK: ANY FLT INTERESTED IN USING AFFECTED AIRSPACE MUST CONTACT
WITH TALAVERA APP/TWR IN ORDER TO UPDATE ACTIVATION STATUS.
TSA ZAFRA WEST
LATERAL LIMITS: 375951N 0060826W, 374856N 0062400W,
380157N 0065306W, 383549N 0064908W,
383601N 0064437W, 383800N 0063728W,
375951N 0060826W.
VERTICAL LIMITS: FL260/FL350
DATES AND TIMES: MAR 17 HR 1930-2359
MAR 18 HR 0000-0700
RMK: ANY FLT INTERESTED IN USING AFFECTED AIRSPACE MUST CONTACT
WITH TALAVERA APP/TWR IN ORDER TO UPDATE ACTIVATION STATUS.
TSA FITA
LATERAL LIMITS: 363246N 0063706W, 363020N 0063736W,
363121N 0064944W, 363326N 0064946W,
364443N 0064943W, 365729N 0063252W,
371030N 0063723W, 371540N 0061153W,
371526N 0055503W, 364638N 0060004W,
363246N 0063706W.

VERTICAL LIMITS: FL245/FL275
DATES AND TIMES: MAR 18 HR 0000-0530
TSA PASILLO ZAFRA
LATERAL LIMITS: 383244N 0065303W, 375354N 0063241W,

380343N 0065655W, 383244N 0065303W.
VERTICAL LIMITS: FL245/FL275
DATES AND TIMES: MAR 02 09 24 25 HR 0700-1900
MAR 17 HR 1600-2359
MAR 18 HR 0000-0700
MAR 30 HR 0600-1800
RMK: ANY FLT INTERESTED IN USING AFFECTED AIRSPACE MUST CONTACT WITH TALAVERA APP/TWR IN ORDER TO UPDATE ACTIVATION STATUS.
TSA PASILLO HUELVA WHISKY
LATERAL LIMITS: 380456N 0064521W, 375913N 0063315W,
375048N 0070541W, 373231N 0071738W,
372835N 0071609W, 372806N 0071315W,
372841N 0070930W, 371546N 0070423W,
371642N 0071421W, 371950N 0071533W,
372106N 0072431W, 373321N 0072911W,
375753N 0071313W, 380456N 0064521W.
VERTICAL LIMITS: FL245/FL275
DATES AND TIMES: MAR 02 09 24 25 HR 0700-1900
MAR 17 HR 1600-2359
MAR 18 HR 0000-0700
MAR 30 HR 0600-1800
TSA PASILLO HUELVA
LATERAL LIMITS: 380535N 0064722W, 380020N 0063559W,
371840N 0070733W, 372027N 0071943W,
380535N 0064722W.
VERTICAL LIMITS: FL245/FL275
DATES AND TIMES: MAR 02 09 24 25 HR 0700-1900
MAR 17 HR 1600-2359
MAR 18 HR 0000-0700
MAR 30 HR 0600-1800
RMK: THE AREA WILL BE PLANNABLE WITH ACTIVATION/DEACTIVATION BY

TACTICAL COORDINATION WITH ECAO (OPERATIVE AIR TRAFFIC SQUADRON) SEVILLA.
TSA ANDEVALO
LATERAL LIMITS: 372343N 0071707W, 372516N 0070807W,
370053N 0065830W, 365908N 0070718W,
372343N 0071707W.
VERTICAL LIMITS: FL245/FL275
DATES AND TIMES: MAR 02 09 24 25 HR 0700-1900
MAR 17 HR 1600-2359
MAR 18 HR 0000-0700
MAR 30 HR 0600-1800
RMK: THE AREA WILL BE PLANNABLE WITH ACTIVATION/DEACTIVATION BY TACTICAL COORDINATION WITH ECAO (OPERATIVE AIR TRAFFIC SQUADRON) SEVILLA.
TSA GOLFO
LATERAL LIMITS: 365532N 0072130W, 370423N 0070923W,
370536N 0070136W, 365032N 0064303W,
363556N 0064301W, 363452N 0063303W,
355130N 0064230W, 355700N 0072130W,
365532N 0072130W.
VERTICAL LIMITS: FL245/FL275
DATES AND TIMES: MAR 02 09 24 25 HR 0700-1900
MAR 17 HR 1600-2359
MAR 18 HR 0000-0700
MAR 30 HR 0600-1800

TSA PASILLO GOLFO NORTH
LATERAL LIMITS: 370324N 0071202W, 370538N 0070010W,
362751N 0064849W, 362544N 0070058W,
370324N 0071202W.
VERTICAL LIMITS: FL245/FL275
DATES AND TIMES: MAR 02 09 24 25 HR 0700-1900
MAR 17 HR 1600-2359
MAR 18 HR 0000-0700
MAR 30 HR 0600-1800
END PART 8 OF 13

RMK: THE AREA WILL BE PLANNABLE WITH ACTIVATION/DEACTIVATION
BY TACTICAL COORDINATION WITH ECAO (OPERATIVE AIR TRAFFIC
SQUADRON) SEVILLA.
TSA PASILLO GOLFO SOUTH
LATERAL LIMITS: 363035N 0070224W, 363249N 0065021W,
355048N 0063726W, 355029N 0065044W,
363035N 0070224W.
VERTICAL LIMITS: FL245/FL275
DATES AND TIMES: MAR 02 09 24 25 HR 0700-1900
MAR 17 HR 1600-2359
MAR 18 HR 0000-0700
MAR 30 HR 0600-1800
RMK: THE AREA WILL BE PLANNABLE WITH ACTIVATION/DEACTIVATION BY
TACTICAL COORDINATION WITH ECAO (OPERATIVE AIR TRAFFIC
SQUADRON) SEVILLA.
TSA ESTRECHO 1W
LATERAL LIMITS: 355827N 0064739W, 355832N 0061514W,
355117N 0062132W, 355037N 0064945W,
355827N 0064739W.
VERTICAL LIMITS: FL245/FL275
DATES AND TIMES: MAR 02 09 24 25 HR 0700-1900
MAR 17 HR 1600-2359
MAR 18 HR 0000-0700
MAR 30 HR 0600-1800
RMK: THE AREA WILL BE PLANNABLE WITH ACTIVATION/DEACTIVATION BY
TACTICAL COORDINATION WITH ECAO (OPERATIVE AIR TRAFFIC
SQUADRON) SEVILLA.
TSA ESTRECHO 1E
LATERAL LIMITS: 355108N 0062449W, 355834N 0061829W,
355838N 0055331W, 355202N 0055256W,
355108N 0062449W.
VERTICAL LIMITS: FL245/FL275
DATES AND TIMES: MAR 02 09 24 25 HR 0700-1900

MAR 17 HR 1600-2359
MAR 18 HR 0000-0700
MAR 30 HR 0600-1800
RMK: THE AREA WILL BE PLANNABLE WITH ACTIVATION/DEACTIVATION BY
TACTICAL COORDINATION WITH ECAO (OPERATIVE AIR TRAFFIC
SQUADRON) SEVILLA.
TSA ESTRECHO 2
LATERAL LIMITS: 355211N 0055413W, 355700N 0052900W,
355551N 0050739W, 360501N 0050012W,
360457N 0052249W, 360104N 0055442W,
355211N 0055413W.
VERTICAL LIMITS: FL245/FL275
DATES AND TIMES: MAR 02 09 24 25 HR 0700-1900
MAR 17 HR 1600-2359
MAR 18 HR 0000-0700
MAR 30 HR 0600-1800
TSA ESTRECHO 3

LATERAL LIMITS: 355551N 0050937W, 355545N 0045332W,
360450N 0044817W, 360455N 0050217W,
355551N 0050937W.
VERTICAL LIMITS: FL245/FL275
DATES AND TIMES: MAR 02 09 24 25 HR 0700-1900
MAR 17 HR 1600-2359
MAR 18 HR 0000-0700
MAR 30 HR 0600-1800
RMK: THE AREA WILL BE PLANNABLE WITH ACTIVATION/DEACTIVATION BY
TACTICAL COORDINATION WITH ECAO (OPERATIVE AIR TRAFFIC
SQUADRON) SEVILLA.
TSA CORREDOR SUR 1 HIGH
LATERAL LIMITS: 355043N 0034221W, 361034N 0040128W,
361010N 0044002W, 360451N 0044340W,
360451N 0045319W, 355549N 0050024W,
355543N 0045005W, 355007N 0045348W,

355043N 0034221W.
VERTICAL LIMITS: FL245/FL275
DATES AND TIMES: MAR 02 09 24 25 HR 0700-1900
MAR 17 HR 1600-2359
MAR 18 HR 0000-0700
MAR 30 HR 0600-1800
TSA CORREDOR SUR 1 MEDIUM
LATERAL LIMITS: 355043N 0034221W, 361034N 0040128W,
361010N 0044002W, 360451N 0044340W,
360451N 0045319W, 355549N 0050024W,
355543N 0045005W, 355007N 0045348W,
355043N 0034221W.
VERTICAL LIMITS: FL175/FL265
DATES AND TIMES: MAR 02 09 24 25 HR 0700-1900
MAR 17 HR 1600-2359
MAR 18 HR 0000-0700
MAR 30 HR 0600-1800
RMK: THE AREA WILL BE PLANNABLE WITH ACTIVATION/DEACTIVATION BY
TACTICAL COORDINATION WITH ECAO (OPERATIVE AIR TRAFFIC
SQUADRON) SEVILLA.
TSA CORREDOR SUR 1 LOW
LATERAL LIMITS: 355043N 0034221W, 361034N 0040128W,
361010N 0044002W, 360451N 0044340W,
360451N 0045319W, 355549N 0050024W,
355543N 0045005W, 355007N 0045348W,
355043N 0034221W.
VERTICAL LIMITS: FL170/FL190
DATES AND TIMES: MAR 02 09 24 25 HR 0700-1900
MAR 17 HR 1600-2359
MAR 18 HR 0000-0700
MAR 30 HR 0600-1800
TSA CORREDOR SUR 2 HIGH
LATERAL LIMITS: 361038N 0040932W, 361032N 0023609W,

355042N 0025436W, 355037N 0035013W,
361038N 0040932W.
VERTICAL LIMITS: FL245/FL275
DATES AND TIMES: MAR 02 09 24 25 HR 0700-1900
MAR 17 HR 1600-2359
MAR 18 HR 0000-0700
MAR 30 HR 0600-1800
TSA CORREDOR SUR 2 LOW
LATERAL LIMITS: 361038N 0040932W, 361032N 0023609W,
355042N 0025436W, 355037N 0035013W,
361038N 0040932W.

VERTICAL LIMITS: FL170/FL190
DATES AND TIMES: MAR 02 09 24 25 HR 0700-1900
MAR 17 HR 1600-2359
MAR 18 HR 0000-0700
MAR 30 HR 0600-1800
TSA CORREDOR SUR 3 HIGH
LATERAL LIMITS: 361033N 0024402W, 361033N 0021433W,
362221N 0015804W, 355041N 0020607W,
355041N 0030223W, 361033N 0024402W.
VERTICAL LIMITS: FL245/FL275
DATES AND TIMES: MAR 02 09 24 25 HR 0700-1900
MAR 17 HR 1600-2359
MAR 18 HR 0000-0700
MAR 30 HR 0600-1800
TSA CORREDOR SUR 3 LOW
LATERAL LIMITS: 361033N 0024402W, 361033N 0021433W,
362221N 0015804W, 355041N 0020607W,
355041N 0030223W, 361033N 0024402W.
VERTICAL LIMITS: FL170/FL190
DATES AND TIMES: MAR 02 09 24 25 HR 0700-1900
MAR 17 HR 1600-2359
MAR 18 HR 0000-0700
MAR 30 HR 0600-1800

TSA CORREDOR SUR 4
LATERAL LIMITS: 361658N 0020533W, 363151N 0014434W,
365059N 0005929W, 363323N 0004752W,
361447N 0013118W, 355041N 0020607W,
355039N 0021206W, 361658N 0020533W.
VERTICAL LIMITS: FL170/FL190
DATES AND TIMES: MAR 09 24 HR 0700-1900
TSA CORREDOR SUR 5
LATERAL LIMITS: 364753N 0010415W, 371952N 0001143E,
365804N 0001142E, 363059N 0005316W,
364753N 0010415W.
VERTICAL LIMITS: FL170/FL190
DATES AND TIMES: MAR 09 24 HR 0700-1900
TSA CORREDOR SUR 6
LATERAL LIMITS: 371829N 0000614E, 380228N 0015703E,
374402N 0020706E, 365553N 0000607E,
371829N 0000614E.
VERTICAL LIMITS: FL170/FL190
DATES AND TIMES: MAR 09 24 HR 0700-1900
TSA CORREDOR SUR 7
LATERAL LIMITS: 375951N 0015034E, 374128N 0020041E,
382035N 0034354E, 382256N 0034709E,
383750N 0032956E, 375951N 0015034E.
VERTICAL LIMITS: FL170/FL190
DATES AND TIMES: MAR 09 24 HR 0700-1900
TSA CORREDOR SUR 8
LATERAL LIMITS: 381916N 0034003E, 383417N 0032411E,
392941N 0043931E, 390036N 0043931E,
382034N 0034352E, 381916N 0034003E.
VERTICAL LIMITS: FL170/FL190
DATES AND TIMES: MAR 09 24 HR 0700-1900
F) SFC G) FL350

D0504/26
02 04 09 11 16 18 23 25 30 0700-1200
LETS37 **ACTIVATED** FOR UNMANNED AIRCRAFT VEHICLES FLYING
UPPER VERTICAL LIMIT MODIFIED
F) SFC G) 04000FT AMSL

D0549/26
02 09 13 16-20 23-27 0700-2000, 10-12 0700-0800
LED129 **ACTIVATED** FOR AIR OPERATIONS
UPPER VERTICAL LIMIT MODIFIED
RMK: THE ACTIVATION/DEACTIVATION OF THIS AREA WILL BE CARRIED OUT
IN REAL TIME BY TACTICAL COORDINATION WITH ECAO (OPERATIVE
AIR TRAFFIC SQUADRON) SEVILLA.
F) SFC G) FL245

D0547/26
02 06 09 13 16-20 23-27 0700-2000, 10-12 0700-0800
LED122 **ACTIVATED** FOR AIR OPERATIONS
UPPER VERTICAL LIMIT MODIFIED
RMK: THE ACTIVATION/DEACTIVATION OF THIS AREA WILL BE CARRIED OUT
IN REAL TIME BY TACTICAL COORDINATION WITH ECAO (OPERATIVE
AIR TRAFFIC SQUADRON) SEVILLA.
F) SFC G) FL245

D0597/26
02 06 09 16 20 23 27 0700-1400
TEMPORARY SEGREGATED AREA FOR UNMANNED AIRCRAFT VEHICLE
FLYING **ACTIVATED** WI 370116N 0022229W, 365812N 0021955W,
365305N 0022149W, 365235N 0022316W, 365350N 0022547W,
370116N 0022229W (LATERAL LIMITS COINCIDENTAL WITH LED36)
ALMERIA/ALVAREZ DE SOTOMAYOR
F) SFC G) 04000FT AMSL

D0879/26
SR-SS
TEMPO RESTRICTED AREA **ACTIVATED** FOR UAS WI COORD
383717N 0034507W 383751N 0034616W 383936N 0034647W
383939N 0034740W 384009N 0034739W 384215N 0034618W
384214N 0034610W 384212N 0034455W 384045N 0033854W
383812N 0033746W 383717N 0034507W.
CALZADA DE CALATRAVA, CIUDAD REAL.
RMK:CORDINATION PHONE NUMBER:+34 948 572 230/+34 680 836 208
CORDINATION MAIL: COORDINACIONES(AT)FUVEX.COM
F) SFC G) 00100M AGL

D0818/26
SR-SS
TEMPO SEGREGATED AREA **ACTIVATED** FOR UNMANNED ACFT FLYING
WI COORD: 391638N 0030833W - 390748N 0030805W -
390718N 0032501W - 391547N 0032432W - 391638N 0030833W
ALCAZAR DE SAN JUAN, CIUDAD REAL
RMK:
CORDINATION PHONE NUMBER: +34 636 440 147 / +34 669 408 833
CORDINATION MAIL: COORDINACIONES(AT)FUVEX.COM
F) SFC G) 00100M AGL

D0819/26
SR-SS
TEMPO SEGREGATED AREA **ACTIVATED** FOR UNMANNED ACFT FLYING WI
COORD
383807N 0030452W
383752N 0025648W
383144N 0025414W
383121N 0025427W
383208N 0030012W
383033N 0031027W
383249N 0031222W
383708N 0030759W
383807N 0030452W
VILLAMANRIQUE - CIUDAD REAL
RMK:
CORDINATION PHONE NUMBER: +34 636 440 147 / +34 669 408 833
CORDINATION MAIL: COORDINACIONES(AT)FUVEX.COM
F) SFC G) 00100M AGL

D0866/26
SR-SS
TEMPO SEGREGATED AREA **ACTIVATED** FOR UNMANNED ACFT FLYING
WI COORD: 384347N 0040533W - 384406N 0035519W -
384604N 0035135W - 384601N 0035118W - 384338N 0034659W -
384219N 0034659W - 384234N 0040327W - 384029N 0040326W -
384043N 0040524W - 384347N 0040533W
ALDEA DEL REY, CIUDAD REAL
RMK:
COORDINATION PHONE NUMBER: +34 636 440 147 / +34 669 408 833
CORDINATION MAIL: COORDINACIONES(AT)FUVEX.COM
F) SFC G) 00100M AGL

D0883/26
SR-SS
TEMPO SEGREGADA AREA **ACTIVATED** FOR UNMANNED ACFT FLYING WI
COORD WI COORD 384553N 0031541W - 385004N 0031432W -
385014N 0031236W - 384759N 0031201W - 384617N 0030233W -
385423N 0030125W - 385410N 0025803W - 384519N 0025356W -
384430N 0025357W - 384355N 0025912W - 383841N 0025830W -
383807N 0030434W - 383839N 0031011W - 384443N 0031532W -
384553N 0031541W
VILLANUEVA DE LOS INFANTES, CIUDAD REAL
RMK:
COORDINATION PHONE NUMBER: +34 948 572 230 / +34 680 836 208
COORDINATION MAIL: COORDINACIONES(AT)FUVEX.COM
F) SFC G) 00100M AGL

D0885/26
SR-SS
TEMPO SEGREGATED AREA **ACTIVATED** FOR UNMANNED ACFT FLYING
WI COORD 390148N 0033930W - 390217N 0033933W -
390450N 0033751W - 390713N 0032501W - 390734N 0031518W -
390053N 0030735W - 385151N 0030944W - 385129N 0031822W -
384948N 0032335W - 384945N 0032436W - 385938N 0032557W -
390148N 0033930W
MANZANARES, CIUDAD REAL.
RMK:
COORDINATION PHONE NUMBER: +34 948 572 230 / +34 680 836 208
COORDINATION MAIL: COORDINACIONES(AT)FUVEX.COM
F) SFC G) 00100M AGL

D0579/26
02-06 09-13 16-20 23-27 30-31 SR-SS
TEMPORARY SEGREGATED AREA FOR UNMANNED AIRCRAFT VEHICLE
FLYING **ACTIVATED** WI 403935N 0030600W, 403929N 0030541W,
403954N 0030514W, 403952N 0030508W, 403924N 0030522W,
403914N 0030520W, 403907N 0030553W, 403843N 0030546W,
403857N 0030519W, 403925N 0030504W, 404013N 0030436W,
404111N 0030408W, 404213N 0030325W, 404230N 0030306W,
404247N 0030248W, 404307N 0030301W, 404246N 0030342W,
404127N 0030439W, 404016N 0030526W, 403935N 0030600W
GUADALAJARA/ZONE 1
F) SFC G) 01170M AMSL

D0578/26
02-06 09-13 16-20 23-27 30-31 SR-SS
TEMPORARY SEGREGATED AREA FOR UNMANNED AIRCRAFT VEHICLE
FLYING **ACTIVATED** WI 403646N 0030628W, 403703N 0030618W,
403716N 0030622W, 403833N 0030521W, 403820N 0030551W,
403734N 0030637W, 403739N 0030720W, 403700N 0030656W,
403642N 0030654W, 403643N 0030652W, 403646N 0030628W
GUADALAJARA/ZONE 2
F) SFC G) 01170M AMSL

D0580/26
02-06 09-13 16-20 23-27 30-31 SR-SS
TEMPORARY SEGREGATED AREA FOR UNMANNED AIRCRAFT VEHICLE
FLYING **ACTIVATED** WI 403613N 0030710W, 403635N 0030642W,
403638N 0030648W, 403640N 0030652W, 403641N 0030654W,
403650N 0030655W, 403629N 0030815W, 403628N 0030837W,
403614N 0030832W, 403559N 0030822W, 403541N 0030831W,
403527N 0030843W, 403517N 0030901W, 403506N 0030845W,
403501N 0030838W, 403513N 0030825W, 403613N 0030710W
GUADALAJARA/ZONE 3
F) SFC G) 01170M AMSL

D0851/26
02-05 09-12 16-19 23-26 0600-1300 1500-2200, 06 13 20 27 ,
0600-1200, 30-31 0500-1200 1400-2100
TEMPORARY SEGREGATED AREA FOR UNMANNED AIRCRAFT VEHICLE FLYING
ACTIVATED WI 422432N 0083918W, 422246N 0083827W, 422154N 0084015W,
422326N 0084049W, 422432N 0084013W, 422432N 0083918W
PONTEVEDRA/FIGUEIRIDO
F) SFC G) 00400FT AGL

D0455/26
02-05 09-12 16-19 23-26 0600-1300 1500-2200, 06 13 20 27 ,
0600-1200, 30-31 0500-1200 1400-2100
TEMPORARY SEGREGATED AREA FOR UNMANNED AIRCRAFT
VEHICLE FLYING **ACTIVATED** WI 420453N 0082535W,
420626N 0081929W, 420846N 0081448W, 420829N 0081325W,
421037N 0081046W, 421225N 0081217W, 421402N 0081107W,
421700N 0081002W, 421659N 0081112W, 421236N 0081628W,
421149N 0082706W, 420709N 0082842W, 420453N 0082535W
GALICIA/AZOR B
RMK: THE ACTIVATION/DEACTIVATION OF THIS AREA WILL BE CARRIED OUT
IN REAL TIME BY TACTICAL COORDINATION WITH ECAO (OPERATIVE
AIR TRAFFIC SQUADRON) MADRID AND SANTIAGO TACC.
F) SFC G) 00400FT AGL

D0541/26
SR-SS
TEMPO SEGREGATED AREA LETS30 **ACTIVATED**.
VILLACARRILLO, JAEN.
RMK:
COORDINATION PHONE NUMBER: +34 662 356 102
F) SFC G) 05000FT AMSL

D0909/26
01 03-31 SR-SS, 02 SR-1800
GLIDER, PARAGLINDING OR HANG GLIFER FLYING WILL TAKE PLACE
WI COORD: 422342N 0004433W 421655N 0000434W 420938N 0000458W
421850N 0004506W 422342N 0004433W
HUESCA/ARAGON
F) SFC G) 05740FT AMSL
D0730/26
SR-SS
TEMPO SEGREGATED AREA **ACTIVATED** WI COORD
415310N 0061033W
415336N 0061249W
415556N 0061428W
415729N 0061457W
420024N 0061811W
420153N 0061620W
420118N 0060908W
415926N 0060906W
415635N 0060748W
415529N 0060819W
415528N 0060819W
415310N 0061033W
FERRERAS DE ARRIBA, ZAMORA
RMK:
CORDINATION PHONE NUMBER: +34 948 572 230 / +34 680 836 208
CORDINATION MAIL: COORDINACIONES(AT)FUVEX.COM
F) SFC G) 00100M AGL
D0766/26
SR-SS
TEMPO SEGREGATED AREA **ACTIVATED** WI COORD
423806N 0062911W - 423805N 0062913W - 423428N 0062829W -
423217N 0062536W - 423110N 0062733W - 423402N 0063347W -
423754N 0063223W - 423806N 0062911W
CONGOSTO, LEON
RMK:
CORDINATION PHONE NUMBER: +34 636 440 147 / +34 669 408 833
CORDINATION MAIL: COORDINACIONES(AT)FUVEX.COM
F) SFC G) 00100M AGL
D0728/26
SR-SS
TEMPO SEGREGATED AREA **ACTIVATED** WI COORD
415647N 0061915W
415711N 0061905W
415704N 0061646W
415646N 0061556W
415647N 0061424W
415616N 0061422W
415604N 0061543W
415612N 0061718W
415630N 0061755W
415647N 0061915W
VILLARDECIERVOS, ZAMORA
RMK:
CORDINATION PHONE NUMBER: +34 948 572 230 / +34 680 836 208
CORDINATION MAIL: COORDINACIONES(AT)FUVEX.COM
F) SFC G) 00100M AGL

D0732/26
SR-SS
TEMPO SEGREGATED AREA **ACTIVATED** WI COORD
415509N 0063232W
415556N 0063226W
415631N 0063248W
420119N 0063029W
420332N 0062704W
415806N 0061938W
415704N 0061859W
415633N 0061912W
415639N 0062127W
415457N 0062925W
415456N 0062925W
415509N 0063232W
MANZANAL DE ARRIBA, ZAMORA
RMK:
CORDINATION PHONE NUMBER: +34 948 572 230 / +34 680 836 208
CORDINATION MAIL: COORDINACIONES(AT)FUVEX.COM
F) SFC G) 00100M AGL

D0778/26
SR-SS
TEMPO SEGREGATED AREA **ACTIVATED** WI COORD
420916N 0063611W - 420915N 0063611W - 420743N 0063615W -
420554N 0063511W - 420536N 0063502W - 415850N 0064529W -
415924N 0064605W - 415924N 0064817W - 415704N 0064907W -
415641N 0065349W - 420159N 0070142W - 420435N 0065949W -
420657N 0064738W - 421105N 0063926W - 420916N 0063611W
LUBIAN, ZAMORA
RMK:
CORDINATION PHONE NUMBER: +34 636 440 147 / +34 669 408 833
CORDINATION MAIL: COORDINACIONES(AT)FUVEX.COM
F) SFC G) 00100M AGL

D0734/26
SR-SS
TEMPO SEGREGATED AREA **ACTIVATED** WI COORD
411546N 0032934W
411555N 0033017W
411641N 0033028W
411930N 0033345W
412002N 0033345W
412128N 0033101W
412219N 0033050W
412232N 0033002W
412227N 0032841W
412154N 0032723W
412200N 0032625W
412220N 0032603W
412252N 0032355W
412313N 0032103W
412142N 0031809W
411743N 0032601W
411546N 0032934W
RIAZA - SEGOVIA
RMK
CORDINATION PHONE NUMBER: +34 948 572 230 / +34 680 836 208
CORDINATION MAIL: COORDINACIONES(AT)FUVEX.COM
F) SFC G) 00100M AGL

D0725/26
SR-SS
TEMPO SEGREGATED AREA **ACTIVATED** WI COORD
412149N 0040240W
412523N 0040447W
412549N 0040300W
412908N 0035930W
412900N 0035739W
412017N 0035232W
411949N 0035304W
411950N 0035708W
412223N 0035808W
412149N 0040240W
FUENTE EL OLMO DE FUENTIDUENA - SEGOVIA
RMK
CORDINATION PHONE NUMBER: +34 948 572 230 / +34 680 836 208
CORDINATION MAIL: COORDINACIONES(AT)FUVEX.COM
F) SFC G) 00100M AGL

D0726/26
SR-SS
TEMPO SEGREGATED AREA **ACTIVATED** WI COORD
404433N 0041723W
404536N 0041523W
404554N 0041115W
404308N 0041113W
404229N 0041142W
404242N 0041420W
404254N 0041513W
404433N 0041723W
ESPINAR - SEGOVIA
RMK
CORDINATION PHONE NUMBER: +34 948 572 230 / +34 680 836 208
CORDINATION MAIL: COORDINACIONES(AT)FUVEX.COM
F) SFC G) 00100M AGL

D0764/26
SR-SS
TEMPO SEGREGATED AREA **ACTIVATED** WI COORD
383446N 0041425W
384019N 0041150W
384116N 0040838W
384022N 0040426W
384027N 0040014W
383738N 0035316W
382239N 0035343W
382256N 0040027W
383446N 0041425W
PUERTOLLANO - CIUDAD REAL
RMK
CORDINATION PHONE NUMBER: +34 680 836 208/ +34 669 408 833
CORDINATION MAIL: COORDINACIONES(AT)FUVEX.COM
F) SFC G) 00100M AGL

D0784/26
TEMPO SEGREGATED AREA **ACTIVATED** FOR UNMANNED ACFT FLYING
WI COORD 385525N 0041004W - 385523N 0040623W - 385519N 0040535W -
385438N 0040547W - 385237N 0040622W - 385148N 0040635W -
385209N 0040720W - 385326N 0040959W - 385525N 0041004W
CORRAL DE CALATRAVA, CIUDAD REAL
RMK:
CORDINATION PHONE NUMBER: +34 636 440 147 / +34 669 408 833
CORDINATION MAIL: COORDINACIONES(AT)FUVEX.COM
F) SFC G) 00100M AGL

D0792/26
SR-SS
TEMPO SEGREGATED AREA **ACTIVATED** FOR UNMANNED ACFT FLYING WI
COORD WI 405241N 0024317W - 405242N 0024318W -
405057N 0024048W - 404957N 0023857W - 404735N 0023635W -
404619N 0023800W - 404726N 0024214W - 404710N 0024304W -
404711N 0024629W - 404619N 0024829W - 404410N 0025113W -
404543N 0025328W - 405247N 0024552W - 405241N 0024317W
VALDERREBOLLO, GUADALAJARA
RMK:
CORDINATION PHONE NUMBER: +34 636 440 147 / +34 669 408 833
CORDINATION MAIL: COORDINACIONES(AT)FUVEX.COM
F) SFC G) 00100M AGL

D0845/26
SR-SS
TEMPO SEGREGATED AREA **ACTIVATED** FOR UNMANNED ACFT FLYING
WI COORD:
390408N 0040230W - 390459N 0035418W - 390020N 0035104W -
385943N 0035131W - 385909N 0035148W - 385844N 0035157W -
385801N 0035210W - 385727N 0035213W - 385640N 0035212W -
385513N 0035617W - 385628N 0040324W - 390408N 0040230W
CIUDAD REAL
RMK:
CORDINATION PHONE NUMBER: +34 680 836 208/ +34 669 408 833
CORDINATION MAIL: COORDINACIONES(AT)FUVEX.COM
F) SFC G) 00100M AGL

D0801/26
SR-SS
TEMPO SEGREGATED AREA **ACTIVATED** FOR UNMANNED ACFT FLYING
WI COORD WI COORD 385704N 0043425W - 385551N 0041005W -
384209N 0040939W - 384412N 0041413W - 384516N 0041406W -
384715N 0042135W - 384449N 0042515W - 385322N 0043422W -
385704N 0043425W
CABEZARADOS, CIUDAD REAL
RMK:
CORDINATION PHONE NUMBER: +34 680 836 208/ +34 669 408 833
CORDINATION MAIL: COORDINACIONES(AT)FUVEX.COM
F) SFC G) 00100M AGL

D0688/26
FEB 20-22 SR-SS, FEB 23 SR-1200, FEB 24-27 SR-1800, MAR 02-04 ,
SR-1800, MAR 05-31 SR-SS
TEMPO SEGREGATED AREA **ACTIVATED** FOR UNMANNED ACFT FLYING WI
COORD WI 420545N 0013502W - 420715N 0013402W - 420707N 0013234W -
420717N 0013204W - 420649N 0013111W - 420536N 0013050W -
420438N 0013320W - 420545N 0013502W
TUDELA, NAVARRA
RMK:
CORDINATION PHONE NUMBER: +34 636 440 147 / +34 669 408 833
CORDINATION MAIL: COORDINACIONES(AT)FUVEX.COM
F) SFC G) 00100M AGL

D0531/26
TEMPO RESTRICTED AREA **ACTIVATED** FOR UAS WI COORD
402508N 0031757W - 402556N 0031755W - 402526N 0025622W -
402103N 0030143W - 401939N 0030603W - 402046N 0031245W -
402230N 0031428W - 402246N 0031916W - 402516N 0031849W -
402510N 0031823W - 402508N 0031757W.
VILLALBILLA, MADRID.
RMK:PHONE NUMBER: +34 661 810 529
F) 00120M AGL G) 00400M AGL

D0604/26
SR-SS
TEMPORARY SEGREGATED AREA FOR UNMANNED ACFT VEHICLE FLYING
ACTIVATED WI COORD 423016N 0064937W - 423006N 0062352W -
421634N 0062400W - 421645N 0064055W - 422311N 0064933W -
423016N 0064937W
PRIARANZA DEL BIERZO, LEON
F) SFC G) 00100M AGL

D0167/26
FEB 07-08 14-15 21-22 28 0600-2359, MAR 01 07-08 14-15 21-22 ,
0600-2359
LETS34 **ACTIVATED** FOR REAL FIRING.
UPPER VERTICAL LIMIT MODIFIED
RMK: THE ACTIVATION/DEACTIVATION OF THIS AREA WILL BE CARRIED OUT
IN REAL TIME BY TACTICAL COORDINATION WITH ECAO (OPERATIVE
AIR TRAFFIC SQUADRON) SEVILLA.
F) SFC G) 08000FT AMSL

D0407/26
0700-1900
TEMPO SEGREGADA AREA **ACTIVATED** WI COORD 431426N 0072823W -
431418N
0072735W - 431347N 0072731W - 431335N 0072746W - 431257N 0072741W
- 431257N 0072805W - 431337N 0072859W - 431426N 0072823W
COSPEITO - LUGO
F) SFC G) 00120M AGL

D5293/25
JAN 07-09 12-16 19-23 26-30 SR-SS, FEB 02-06 09-13 16-20 23-27 ,
SR-SS, MAR 02-06 09-13 16-20 23-27 SR-SS
TSA **ACTIVATED** FOR UAS WI COORD 420729N 0084942W
420738N 0085141W 420705N 0085408W 420532N 0085429W
420457N 0092253W 420953N 0092253W 420933N 0085454W
420833N 0085346W 420846N 0085003W 420729N 0084942W
PONTEVEDRA, BAIONA
F) SFC G) 00120M AGL

D0007/26
JAN 07-09 12-16 19-23 26-30 SR-SS, FEB 02-06 09-13 16-20 23-27 ,
SR-SS, MAR 02-06 09-13 16-20 23-27 SR-SS
TSA **ACTIVATED** FOR UAS WI COORD 420207N 0085327W
420207N 0085326W 415601N 0085330W 415427N 0085258W
415235N 0085311W 415558N 0092234W 420221N 0092230W
420207N 0085327W.
OIA, PONTEVEDRA.
RMK:
CORDINATION PHONE NUMBER: +34 600 338 043 / +34 674 384 394
CORDINATION MAIL: INFODRONES(AT)MARINEINSTRUMENTS.ES
F) SFC G) 00120M AGL

D4282/25
JAN 05 07-08 12-15 19-22 26-29 1700-2100, FEB 02-05 09-12 16-19 ,
23-26 1700-2100, MAR 02-05 09-12 16-19 23-26 1700-2100
LER71A **ACTIVATED** FOR AIR OPERATIONS
RMK: THE ACTIVATION/DEACTIVATION OF THIS AREA WILL BE CARRIED OUT
IN REAL TIME BY TACTICAL COORDINATION WITH ECAO (OPERATIVE
AIR TRAFFIC SQUADRON) MADRID.
F) 01000FT AGL G) FL100

D4284/25
JAN 05 07-08 12-15 19-22 26-29 1700-2100, FEB 02-05 09-12 16-19 , 23-26 1700-2100, MAR 02-05 09-12 16-19 23-26 1700-2100
LER71B **ACTIVATED** FOR AIR OPERATIONS.
UPPER VERTICAL LIMIT MODIFIED
RMK: THE ACTIVATION/DEACTIVATION OF THIS AREA WILL BE CARRIED OUT IN REAL TIME BY TACTICAL COORDINATION WITH ECAO (OPERATIVE AIR TRAFFIC SQUADRON) MADRID.
F) 01000FT AGL G) FL100

D5349/25
JAN 02-04 09-11 16-18 23-25 30-31 SR-SS, FEB 01 06-08 13-15 20-22 , 27-28 SR-SS, MAR 01 06-08 13-15 20-22 27-29 SR-SS
PJE WILL TAKE PLACE 5000M RADIUS
CENTERED AT COORD 425901N 0090018W
MAZARICOS - A CORUNA
RMK
HIGHER ALTITUDES **AVAILABLE** SUBJECT TO REAL-TIME COORDINATION WITH LECG
F) SFC G) 09000FT AMSL

==========
EXTENDED AREA AROUND DESTINATION
==========

LFFF FRANCE FIR/UIR

++++++++++++++++++++++++++++ FIR/UIR ++++++++++++++++++++++++++++++

P1035/26
WINDTURBINE E6007-14 LIGHTS **U/S**
RDL 097/8.1NM LFOB BEAUVAIS TILLE
- PSN : 492613N 0021908E
- ELEV : 725FT
- HGT : 410FT

P1024/26
WINDTURBINE NR E6011-2 LIGHTING **U/S** :
- PSN : 492941N 0022734E
- ELEV : 890FT
- HEIGHT : 414FT

F0450/26
0800-1700
RISK OF GNSS JAMMING :
- DISRUPTION OF THE SIGNAL RECEIVED BY GPS RECEIVERS WI THE 'MILLAU' REGION
- VOLUMES OF IMPACT CENTRED ON PSN 434952N 0024756E :
248NM AT FL400
197NM AT FL250
153NM AT FL150
125NM AT FL100
080NM AT 4000FT
- INFO **AVBL** WITH :
'MARINA' ('MONT DE MARSAN' CONTROL CENTRE) 143.550MHZ / 317.500MHZ 'RAMBERT' ('LYON MONT VERDUN' CONTROL CENTRE) 143.550MHZ / 317.500MHZ 'RAKI' ('CINQ MARS LA PILE' CONTROL CENTRE) 143.550MHZ / 317.500MHZ - IF GPS DISRUPTIONS ARE OBSERVED, REPORT INFORMATION TO THE RELEVANT ATS.

F0489/26

FRENCH AIR CARRIERS AND CAPTAINS OF AIRCRAFT IN CHARGE OF AIR SERVICES OPERATED BY CARRIERS HOLDING AN OPERATING LICENSE ISSUED BY FRANCE, WHETHER THEY ARE CONTRACTUAL CARRIERS AND/OR OPERATING CARRIERS, OR PERFORMING AIR SERVICES THROUGH A WET LEASE OR A CODESHARE AGREEMENT AS WELL AS FOR ANY FLIGHT MADE WITH AN AIRCRAFT REGISTERED IN FRANCE ARE REQUESTED NOT TO PENETRATE INTO THE AIRSPACE OF OMAN (FIR MUSCAT (OOMM)), EXCEPT :
- MAINTAINING ALL TIMES A FLIGHT LEVEL ABOVE OR EQUAL TO FL320, FOR ROUTES LOCATED SOUTH OF THE SEGMENTS DEFINED BY THE FOLLOWING REPORTING POINTS, RESPECTING THE SEQUENCE BELOW :
DANOM 225454N450509E
KEDON 202516N555850E
VELOD 234617N573430E
THE AIR OPERATOR MUST CARRY OUT A ROBUST RISK ASSESSMENT TO ENSURE THAT THE FLIGHT CAN BE CONDUCTED UNDER SATISFACTORY SAFETY AND SECURITY CONDITIONS BEFORE ENTERING THIS AREA.

F0488/26

FRENCH AIR CARRIERS AND CAPTAINS OF AIRCRAFT IN CHARGE OF AIR SERVICES OPERATED BY CARRIERS HOLDING AN OPERATING LICENSE ISSUED BY FRANCE, WHETHER THEY ARE CONTRACTUAL CARRIERS AND/OR OPERATING CARRIERS, OR PERFORMING AIR SERVICES THROUGH A WET LEASE OR A CODESHARE AGREEMENT AS WELL AS FOR ANY FLIGHT MADE WITH AN AIRCRAFT REGISTERED IN FRANCE ARE REQUESTED NOT TO PENETRATE INTO THE AIRSPACE OF SAUDI ARABIA (FIR JEDDAH (OEJD)), EXCEPT
- FOR THE USE OF JEDDAH AERODROME (OEJN) AND TABUK AERODROME (OETB). - FOR ROUTES ON WHICH A FLIGHT LEVEL ABOVE OR EQUAL TO FL320 IS REQUESTED TO BE MAINTAIN AT ALL TIMES AND ARE LOCATED WEST OF THE SEGMENTS DEFINED BY THE FOLLOWING REPORTING POINTS, RESPECTING THE SEQUENCE BELOW :
OBSOT 295451N373455E
DANOM 225454N450509E
KEDON 202516N555850E
- FOR THE USE OF YENBO AERODROME (OEYN) AND TAIF AERODROME (OETF) AS ALTERNATE ONLY.
THE AIR OPERATOR MUST CARRY OUT A ROBUST RISK ASSESSMENT TO ENSURE THAT THE FLIGHT CAN BE CONDUCTED UNDER SATISFACTORY SAFETY AND SECURITY CONDITIONS BEFORE ENTERING THIS AREA AND BEFORE OPERATING FLIGHTS TO JEDDAH AIRPORT (OEJN).
THIS NOTAM SUPERSEDES THE RESTRICTIONS CONCERNING SAUDI ARABIA AIRSPACE (FIR JEDDAH (OEJD)) ISSUED IN PARAGRAPH 3.13 SAUDI ARABIA OF THE AIC NR 02/26 CURRENTLY IN EFFECT.

F0487/26

FRENCH AIR CARRIERS AND CAPTAINS OF AIRCRAFT IN CHARGE OF AIR SERVICES OPERATED BY CARRIERS HOLDING AN OPERATING LICENSE ISSUED BY FRANCE, WHETHER THEY ARE CONTRACTUAL CARRIERS AND/OR OPERATING CARRIERS, OR PERFORMING AIR SERVICES THROUGH A WET LEASE OR A CODESHARE AGREEMENT AS WELL AS FOR ANY FLIGHT MADE WITH AN AIRCRAFT REGISTERED IN FRANCE ARE REQUESTED NOT TO PENETRATE INTO THE ENTIRE AIRSPACE OF JORDAN (FIR AMMAN (OJAC

F0486/26

FRENCH AIR CARRIERS AND CAPTAINS OF AIRCRAFT IN CHARGE OF AIR SERVICES OPERATED BY CARRIERS HOLDING AN OPERATING LICENSE ISSUED BY FRANCE, WHETHER THEY ARE CONTRACTUAL CARRIERS AND/OR OPERATING CARRIERS, OR PERFORMING AIR SERVICES THROUGH A WET LEASE OR A CODESHARE AGREEMENT AS WELL AS FOR ANY FLIGHT MADE WITH AN AIRCRAFT REGISTERED IN FRANCE ARE REQUESTED NOT TO PENETRATE INTO THE ENTIRE AIRSPACE OF BAHRAIN (FIR BAHRAIN (OBBB

F0485/26
FRENCH AIR CARRIERS AND CAPTAINS OF AIRCRAFT IN CHARGE OF AIR SERVICES OPERATED BY CARRIERS HOLDING AN OPERATING LICENSE ISSUED BY FRANCE, WHETHER THEY ARE CONTRACTUAL CARRIERS AND/OR OPERATING CARRIERS, OR PERFORMING AIR SERVICES THROUGH A WET LEASE OR A CODESHARE AGREEMENT AS WELL AS FOR ANY FLIGHT MADE WITH AN AIRCRAFT REGISTERED IN FRANCE ARE REQUESTED NOT TO PENETRATE INTO THE ENTIRE AIRSPACE OF KUWAIT (FIR KUWAIT (OKAC)).

F0484/26
FRENCH AIR CARRIERS AND CAPTAINS OF AIRCRAFT IN CHARGE OF AIR SERVICES OPERATED BY CARRIERS HOLDING AN OPERATING LICENSE ISSUED BY FRANCE, WHETHER THEY ARE CONTRACTUAL CARRIERS AND/OR OPERATING CARRIERS, OR PERFORMING AIR SERVICES THROUGH A WET LEASE OR A CODESHARE AGREEMENT AS WELL AS FOR ANY FLIGHT MADE WITH AN AIRCRAFT REGISTERED IN FRANCE ARE REQUESTED NOT TO PENETRATE INTO THE ENTIRE AIRSPACE OF QATAR (FIR DOHA (OTDF)).

F0483/26
FRENCH AIR CARRIERS AND CAPTAINS OF AIRCRAFT IN CHARGE OF AIR SERVICES OPERATED BY CARRIERS HOLDING AN OPERATING LICENSE ISSUED BY FRANCE, WHETHER THEY ARE CONTRACTUAL CARRIERS AND/OR OPERATING CARRIERS, OR PERFORMING AIR SERVICES THROUGH A WET LEASE OR A CODESHARE AGREEMENT AS WELL AS FOR ANY FLIGHT MADE WITH AN AIRCRAFT REGISTERED IN FRANCE ARE REQUESTED NOT TO PENETRATE INTO THE ENTIRE AIRSPACE OF LEBANON (FIR BEIRUT (OLBB)).

F0482/26
FRENCH AIR CARRIERS AND CAPTAINS OF AIRCRAFT IN CHARGE OF AIR SERVICES OPERATED BY CARRIERS HOLDING AN OPERATING LICENSE ISSUED BY FRANCE, WHETHER THEY ARE CONTRACTUAL CARRIERS AND/OR OPERATING CARRIERS, OR PERFORMING AIR SERVICES THROUGH A WET LEASE OR A CODESHARE AGREEMENT AS WELL AS FOR ANY FLIGHT MADE WITH AN AIRCRAFT REGISTERED IN FRANCE ARE REQUESTED NOT TO PENETRATE INTO THE ENTIRE AIRSPACE OF UNITED ARAB EMIRATES (FIR EMIRATES (OMAE

F0481/26
FRENCH AIR CARRIERS AND CAPTAINS OF AIRCRAFT IN CHARGE OF AIR SERVICES OPERATED BY CARRIERS HOLDING AN OPERATING LICENSE ISSUED BY FRANCE, WHETHER THEY ARE CONTRACTUAL CARRIERS AND/OR OPERATING CARRIERS, OR PERFORMING AIR SERVICES THROUGH A WET LEASE OR A CODESHARE AGREEMENT AS WELL AS FOR ANY FLIGHT MADE WITH AN AIRCRAFT REGISTERED IN FRANCE ARE REQUESTED NOT TO PENETRATE INTO THE ENTIRE AIRSPACE OF IRAQ (FIR BAGHDAD (ORBB)).
THIS NOTAM SUPERSEDES THE RESTRICTIONS CONCERNING IRAQ AIRSPACE (FIR BAGHDAD (ORBB)) ISSUED IN PARAGRAPH 3.2 IRAQ OF THE AIC NR 02/26 CURRENTLY IN EFFECT.

F0480/26
FRENCH AIR CARRIERS AND CAPTAINS OF AIRCRAFT IN CHARGE OF AIR SERVICES OPERATED BY CARRIERS HOLDING AN OPERATING LICENSE ISSUED BY FRANCE, WHETHER THEY ARE CONTRACTUAL CARRIERS AND/OR OPERATING CARRIERS, OR PERFORMING AIR SERVICES THROUGH A WET LEASE OR A CODESHARE AGREEMENT AS WELL AS FOR ANY FLIGHT MADE WITH AN AIRCRAFT REGISTERED IN FRANCE ARE REQUESTED NOT TO PENETRATE INTO THE ENTIRE AIRSPACE OF IRAN (FIR TEHRAN (OIIX)).
THIS NOTAM SUPERSEDES THE RESTRICTIONS CONCERNING IRAN AIRSPACE (FIR TEHRAN (OIIX)) ISSUED IN PARAGRAPH 3.14 IRAN OF THE AIC NR 02/26 CURRENTLY IN EFFECT.

P1006/26
OBSTACLE NR E4503 LGT **U/S** (2 WIND TURBINES OUT OF 5)
RDL 119/10.6NM LFOC ARP
WIND TURBINES : E4503-4 AND E4503-5
MEAN PSN : 475815N 0013618E
HGT : 410FT AGL
ELEV : 814FT AMSL.

P0993/26
WINDFARM NR E1008 (RDL 323/12NM LFQB) LGT **U/S** (8 WINDTURBINES OUT OF 47) :
- MEAN PSN : 482901.30N 0034958.69E
- MAX HGT : 492FT
- MAX ELEV : 807FT.

P0990/26
OBST (PYLON) NR 10002 LIGHTING **U/S** - RDL 184/5.1NM LFFR ARP :
- PSN : 475856N 0042409E
- HEIGHT : 738FT
- ELEVATION : 1850FT.

P0952/26
OBST MAST NR 80137 LIGHTING **U/S** :
- PSN : 495429N 0020441E
- HEIGHT : 403FT
- ELEVATION : 784FT.

P0941/26
OBSTACLES E2815-2 AND E2815-4 LIGHTS **U/S** (2 WINDTURBINES OUT OF 6) - RDL010/8.15NM LFOR ARP :
-PSN : 481929N 0012912E
-HEIGHT : 410FT
-ELEV : 899FT.

P0929/26
WIND TURBINE E5144-8 (RDL271/4.3NM ARP LFQK) LGT **U/S** :
- AVG PSN : 485423.48N 0041441.58E
- MAX HGT : 588FT
- MAX ELEV : 1006FT.

P0911/26
WINDTURBINE E0207-2 LIGHTS **U/S** :
-PSN : 494520N 0032349E
-ELEV : 741FT
-HEIGHT : 410FT.

P0908/26
WINDTURBINE E280D-12 LGT **U/S** - RDL125/13NM LFOR :
-PSN : 482007.52N 0014727.36E
-HGT : 388FT
-ELEV : 877FT.

P0905/26
OBSTACLE NR E2814-6 LIGHTS **U/S** :
-RDL326/33.44NM LFOZ
RDL131/6.3NM LFOR
-PSN : 482325N 0013834E
-HEIGHT : 410FT
-ELEV : 912FT.

P0902/26
WIND TURBINE E1001-10 LIGHTING **U/S** - RDL 218/11.2NM LFOK ARP :
- PSN : 483743.76N 0040153.49E
- HEIGHT : 413FT
- ELEVATION : 876FT.

P0892/26
WIND TURBINE NR E5208-8 LIGHTS **U/S** - RDL239/7.3NM LFFJ ARP :
-PSN : 481921.37N 0045906.56E
-HEIGHT : 397FT
-ELEV : 1588FT.

P0812/26
OBSTACLE NR 76168 LGT **U/S**
RDL 172/11.51 NM LFAE ARP
PSN 495237N 0012757E
HGT 404FT AGL
ELEV 833FT AMSL

P0785/26
OBSTACLE NR E280D-7 LIGHTING **U/S** (1 WINDTURBINE OUT OF 29) :
- RDL 155/11.74NM LFFL ARP
- PSN : 482011.06N 0014542.41E
- HEIGHT : 388FT
- ELEV : 874FT.

F0377/26
ATS SKED 'METZ NANCY LORRAINE' :
- MON-FRI : 0700-2030
- SAT : ATS NOT PROVIDED
- SUN : 1100-1800
- OTHER SKED : UPON 24HR PPR BY PHONE TO **AD** ADMINISTRATION.

P0681/26
OBST NR E6205 LIGHTING **U/S** - RDL 214/11.3NM ARP LFIS :
- PSN : 504337N 0013420E
- HEIGHT : 541FT
- ELEVATION : 564FT.

F0321/26
RUSSIA AND BELARUS RESTRICTIONS :
1- ALL AIRCRAFT REGISTERED IN RUSSIA OR OPERATED BY RUSSIAN AIR CARRIERS, INCLUDING AS A MARKETING CARRIER IN CODE-SHARING OR BLOCKED-SPACE ARRANGEMENTS OR OWNED, CHARTERED OR OPERATED BY A RUSSIAN NATURAL OR LEGAL PERSON, ENTITY OR BODY ARE PROHIBITED TO LAND IN, TAKE OFF FROM OR OVERFLY THE FRENCH SOVEREIGN AIRSPACE EXCEPT IN CASE OF EMERGENCY LANDING OR EMERGENCY OVERFLIGHT AND EXCEPT FOR FLIGHTS HOLDING A PERMISSION DELIVERED IN ACCORDANCE WITH THE APPROPRIATE EU REGULATION BY THE FRENCH AUTHORITIES
2- ALL AIRCRAFT OPERATED BY BELARUSIAN AIR CARRIERS, INCLUDING AS A MARKETING CARRIER IN CODE-SHARING OR BLOCKED-SPACE ARRANGEMENTS, ARE PROHIBITED TO LAND IN, TAKE OFF FROM OR OVERFLY THE FRENCH SOVEREIGN AIRSPACE
EXCEPT IN CASE OF EMERGENCY LANDING OR EMERGENCY OVERFLIGHT AND EXCEPT FOR FLIGHTS HOLDING A PERMISSION DELIVERED IN ACCORDANCE WITH THE APPROPRIATE EU REGULATION BY THE FRENCH AUTHORITIES
3- IT SHALL BE PROHIBITED TO PARTICIPATE, KNOWINGLY AND INTENTIONALLY, IN ACTIVITIES THE OBJECT OR EFFECT OF WHICH IS TO CIRCUMVENT THESE PROHIBITIONS.

P0645/26
MODIFICATION COORDONNEES TOUR 53014 A PRE-EN-PAIL-ST-SAMSON
RDL 271/10.33NM ARP LFOF ALENCON-VALFRAMBERT
PSN: 482657N 0000903.49W
HAUT: 201FT
ALT AU SOMMET: 1546FT
BALISAGE: NIL
REF AIP FRANCE DATASET ENR 5.4

P0599/26
OBSTACLE NR 45011 LIGHTING **U/S** - RDL 262/1.5NM HSPS ARP :
- PSN : 475605N 0015023E
- HEIGHT : 240FT
- ELEVATION : 663FT.

P0593/26
OBST NR 41061 LIGHTING **U/S** - RDL 324/16.1NM LFOQ ARP :
- PSN : 475345N 0005823E
- HEIGHT : 391FT
- ELEVATION : 855FT.

P0555/26
WINDTURBINE E0214-11 LIGHTING **U/S** :
- PSN : 495556N 0034134E
- HEIGHT : 493FT
- ELEVATION : 992FT.

P0366/26
WINDTURBINE E8092-6 LIGHTING **U/S** :
PSN : 495023N 0024637E
ELEV : 787FT
HEIGHT : 492FT.
P0359/26
WINDTURBINE E760H-5 LGT **U/S** RDL 002/9.75NM LFFY:
PSN: 492805.54N 0013845.32E
HGT 410FT
ELEV 1148FT
P0069/26
OBST NR 59096 LIGHTING **U/S** - RDL 007/10NM LFQT ARP :
- PSN : 504657.79N 0024016.17E
- HEIGHT : 690FT
- ELEVATION : 1250FT.
P0045/26
OBST NR 18005 (PYLON) LGT **U/S** - RDL140.5/14.7NM LFEH ARP:
- PSN: 471726.35N 0023726.78E
- HGT: 758FT
- ELEV: 2100FT
P0016/26
WINDFARM E7201 AT 'JUILLE' (72) : WINTURBINES E7201-5 E7201-6
LGT **U/S** RDL175/11.6NM LFOF
E7201-5 : 481514.92N 0000810.33E
E7201-6 : 481506.39N 0000752.95E
HGT : 476FT
ELEV : 768FT
F1774/25
VFR PROHIBITED ABOVE FL115 WITHIN SECTORS CONTROLLED BY PARIS
CTL EXC FOR SPECIAL ACT AUTHORIZED BY PARIS CTL.
F1665/25
EUROCONTROL LOGON LIST FUNCTIONALITY SET UP FOR THE EN-ROUTE
CENTRES OF BORDEAUX ACC, BREST ACC, MARSEILLE ACC, PARIS ACC AND
REIMS ACC.
ONLY AIRCRAFT VALIDATED BY EUROCONTROL IN THE LOGON LIST CAN
CONNECT TO THE CPDLC SERVICES OF THESE ACC.
F1418/25
DUE TO A TECHNICAL UPDATE,SOME PHONE NUMBERS OF THE
'CINQ-MARS-LA-PILE' CTL AND DETECTION CENTER '(CDC)' ARE CHANGING.
ONLY THE FLW PHONE NUMBERS HAVE TO BE USED :
'CSCAM': +33 2.45.34.16.02 (862 927 1602)
'BIV': +33 2.45.34.16.03 (862 927 1603)
'MC': +33 2.45.34.16.05 (862 927 1605) AND +33 2.45.34.16.06 (862
927 1606)
'TPO': +33 2.45.34.16.09 (862 927 1609)
'OMC': +33 2.45.34.16.10 (862 927 1610)
'FA': +33 2.45.34.16.11 (862 927 1611)
'OPS MANAGER' : +33 2.45.34.14.00 (862 927 1400)
'CDC CINQ MARS LA PILE POC' : +33 2 45 34 28 63
H0214/25
CREATION OF 'HELISTATION AIR TOURAINE'
AT NEUVY LE ROY
PSN : 473450N 0003618E
ALTITUDE : 310FT
AXIS : 070/250
FATO = TLOF (3.6T) : 20 X 20M
LGT : NIL
REF **AD** 1.3

F0627/25
APPLICATION OF THE NEW EUROPEAN REGULATION IR SERA 2024/404 IN FORCE
ON MAY 1ST, 2025 WITH THE INTRODUCTION OF POINT SERA.14083 RELATING TO PROCEDURES IN CASE OF RADIO COMMUNICATION FAILURE.
MODIFICATION OF RADIO FAILURE PROCEDURE : INTRODUCTION OF THE NEW EMERGENCY CODE 7601 AND MODIFICATION OF THE 7-MINUTE RULE TO 20 MINUTES.
REF AIP ENR1.1

F0311/25
TRIGGER NOTAM - AIRAC AIP SUP 024/25.
CREATION OF 5 TRANSPONDER MANDATORY ZONES (TMZ) ASSOCIATED TO TOURS VAL DE LOIRE **AD** (LFOT).
THIS AIP SUP IS **AVBL** AT WWW.SIA.AVIATION-CIVILE.GOUV.FR

F0441/25
TRIGGER NOTAM - AIP SUP 037/25
CREATION OF EXPERIMENTAL TRANSIT CORRIDORS FOR OVERFLIGHTS OF THE 'PARC NATIONAL DE FORETS NR 021'
THIS AIP SUP IS **AVBL** AT WWW.SIA.AVIATION-CIVILE.GOUV.FR

++++++++++++++++++++++++++++ WAYPOINT ++++++++++++++++++++++++++++

F0251/26
TRIGGER NOTAM - AIRAC AIP SUP 016/26 :
AMENDMENT OF THE AIP FRANCE SECTION ENR 6.2 MAP WITH THE IMPLEMENTATION OF THE FRANCE FRA NORD CELL (LFFRAN).
THIS AIP SUP IS **AVBL** AT WWW.SIA.AVIATION-CIVILE.GOUV.FR

F0244/26
FRANCE FREE ROUTE AIRSPACE - NORTH EAST CELL (LFFRANE) - SIGNIFICANT POINT BELOW FRA FUNCTION MODIFIED.
READ :
-ENORI=FRA(AI): LFFRANE, LFPG, FL195-660
-REF AIP ENR 4.4

F0117/26
VOR 'BNE' 113.800MHZ **U/S** DUE TO FAILURE

F1805/25
FRANCE FREE ROUTE AIRSPACE - NORTH EAST CELL (LFFRANE) - SIGNIFICANT POINT BELOW FRA FUNCTIONS MODIFIED.
READ :
- OKRIX= FRA(ID) : LFFRANE, LFLA, LFOK, LFQB, LFQA, LFSI, LFOA, LFQG, LFLD, LFOJ, LFOZ, LFLC, LFLV, FL195-660
- REF AIP ENR 4.4

++++++++++++++++++++++ RESTRICTED AIRSPACE ++++++++++++++++++++++

R0446/26
TRIGGER NOTAM - AIRAC AIP SUP 023/26 :
CREATION OF TWO TEMPORARY RESERVED AREAS (TRA) IN UIR, TRA90NL AND TRA90NH, AND ASSOCIATED FBZ.
THIS AIP SUP IS **AVBL** AT WWW.SIA.AVIATION-CIVILE.GOUV.FR
F) FL195 G) FL335

R0564/26

TEMPORARY RESTRICTED AREA (ZRT) 'ZRT SOMME 2' :
-DESCRIPTION :
-UNMANNED ACFT FLIGHTS, BEYOND VISUAL LINE OF SIGHT,
-ZRT MAY BE **ACTIVATED** H24 WITH A 24HR PN,
-ZRT CENTRE : RDL302/8.5NM LFOI ARP
1-LATERAL LIMITS :
501654N 0013537E
501457N 0014121E
501012N 0014150E
501040N 0013207E
501654N 0013537E
2-VERTICAL LIMITS :
SR-30 / SS+30 : 500FT ASFC
SS+30 / SR-30 : 1500FT AMSL
3-STATUS :
TEMPORARY RESTRICTED AREA (ZRT) REPLACES THE OVERLAPPING AIRSPACE PARTS, EXCEPT RESTRICTED AREA LF-R400D 'DEP HOURDEL'.
4-SERVICES PROVIDED :
FLIGHT INFORMATION AND ALERT ARE PROVIDED BY 'LILLE INFO'.
5-OAT/GAT ENTRY CONDITIONS :
COMPULSORY AREA AVOIDANCE DURING ZRT ACTIVITY EXCEPT FOR :
-ACFT INVOLVED IN THE EXERCISE,
-AERIAL-WORK COMPANIES ACFT WITH A SPECIAL PERMISSION FROM FLIGHT HEIGHT RESTRICTIONS FOR ESSENTIAL OPERATIONS AFTER COORDINATION WITH THE RELEVANT AUTHORITY,
-ACFT ON MIL, CUSTOMS, POLICE, SEARCH AND RESCUE, FIREFIGHTING, MEDICAL TRANSPORT OPERATIONS WHEN FORCED TO ENTER THE AREA AFTER COORDINATION WITH THE RELEVANT AUTHORITY.
6-RELEVANT AUTHORITY :
-'COMFAG'
-PHONE : +33 630 089 289
: +33 145 373 137 / +33 145 373 139
7-INFO :
ACTUAL TIMES OF ACTIVITY ANNOUNCED ON 'LILLE INFO' 132.540MHZ
F) SFC G) 1500FT AMSL

R0566/26
TEMPORARY RESTRICTED AREA (ZRT) 'ZRT SOMME 1' :
-DESCRIPTION :
-UNMANNED ACFT FLIGHTS, BEYOND VISUAL LINE OF SIGHT,
-ZRT MAY BE **ACTIVATED** H24 WITH A 24HR PN,
-ZRT CENTRE : RDL195/17NM LFAT ARP
1-LATERAL LIMITS :
500803N 0012616E
502318N 0013347E
502136N 0013816E
500736N 0013008E
500803N 0012616E
2-VERTICAL LIMITS :
SR-30 / SS+30 : SFC / 500FT ASFC
SS+30 / SR-30 : SFC / 1500FT AMSL
3-STATUS :
TEMPORARY RESTRICTED AREA (ZRT) REPLACES THE OVERLAPPING AIRSPACE PARTS, EXCEPT RESTRICTED AREAS LF-R400E 'DEP AULT' AND LF-R400D 'DEP HOURDEL' (SUP AIP 215/25).
4-SERVICES PROVIDED :
FLIGHT INFORMATION AND ALERT ARE PROVIDED BY 'LILLE INFO'.
5-OAT/GAT ENTRY CONDITIONS :
COMPULSORY AREA AVOIDANCE DURING ZRT ACTIVITY EXCEPT FOR :
-ACFT INVOLVED IN THE EXERCISE,
-AERIAL-WORK COMPANIES ACFT WITH A SPECIAL PERMISSION FROM FLIGHT HEIGHT RESTRICTIONS FOR ESSENTIAL OPERATIONS AFTER COORDINATION WITH THE RELEVANT AUTHORITY
-ACFT ON MIL, CUSTOMS, POLICE, SEARCH AND RESCUE, FIREFIGHTING, MEDICAL TRANSPORT OPERATIONS WHEN FORCED TO ENTER THE AREA AFTER COORDINATION WITH THE RELEVANT AUTHORITY.
6-RELEVANT AUTHORITY :
-'COMFAG'
-PHONE : +33 630 089 289
PHONE : +33 145 373 137 / +33 145 373 139
7-INFO :
ACTUAL TIMES OF ACTIVITY ANNOUNCED ON 'LILLE INFO' 132.540MHZ
F) SFC G) 1500FT AMSL

R0704/26
MAR 12 13 16-20 23-27 30 31 APR 01-03 SR-SS
RESTRICTED AREA LF-R602 'ABLIS' **ACTIVATED**
ACTUAL ACTIVITY ANNOUNCED ON 'PARIS INFO' 126.100MHZ OR 129.625MHZ. F) SFC G) 2500FT AMSL

R0441/26
TRIGGER NOTAM - AIP SUP 018/26 :
CREATION OF A TEMPORARY RESTRICTED 'ZRT DRONE COURTALAIN' DUE TO OUT OF SIGHT UNMANNED ACFT FLIGHTS IN 'CENTRE' REGION ACTIVABLE BY NOTAM WITH 48HR NOTICE.
THIS AIP SUP IS **AVBL** AT WWW.SIA.AVIATION-CIVILE.GOUV.FR
F) SFC G) 500FT AGL

R0445/26
TRIGGER NOTAM - AIP SUP 022/26 :
CREATION OF A TEMPORARY RESTRICTED AREA 'ZRT CUIRASSIER' IN THE ORLEANS BRICY REGION.
THE ZRT CAN BE **ACTIVATED** BY NOTAM WITH NOTICE OF 48HR.
THIS AIP SUP IS **AVBL** AT WWW.SIA.AVIATION-CIVILE.GOUV.FR
F) SFC G) 2100FT AMSL

R0444/26
TRIGGER NOTAM - AIP SUP 021/26 :
CREATION OF A TEMPORARY RESTRICTED AREA 'ZRT ARGENTAN' FOR UNMANNED AIRCRAFTS SURVEYS, OPERATING OUT OF SIGHT, IN THE ARGENTAN AREA (A88 FREEWAY).
ZRT ACTIVABLE BY NOTAM WITH 10 DAYS NOTICE.
THIS AIP SUP IS **AVBL** AT WWW.SIA.AVIATION-CIVILE.GOUV.FR
F) SFC G) 400FT AGL

R0034/26
NO-FLY ZONE NR660 'CLAIRVAUX' DETENTION CENTRE **WITHDRAWN**
PSN : 480900N 0044700E
F) SFC G) 3300FT AGL

W2675/25
MODEL FLYING ACTIVITY N8071 SAINT FLORENTIN CHEU AERODROME **WITHDRAWN**
PSN: 475920N 0034605E
REF AIP FRANCE ENR 5.5
F) SFC G) 500FT AGL

W2676/25
MODEL FLYING ACTIVITY N8212 SOUCY (89) **WITHDRAWN**
PSN: 481421N 0031725E
REF AIP FRANCE ENR 5.5
F) SFC G) 1300FT AMSL

W2677/25
MODEL FLYING ACTIVITY N8542 VONCQ (08) **WITHDRAWN**
PSN: 492739N 0044003E
REF AIP FRANCE ENR 5.5
F) SFC G) 800FT AMSL

R3088/25
TRIGGER NOTAM - AIP SUP 205/25 :
SPECIAL AVIATION SECURITY MEASURES ABOVE THE PARIS REGION REQUIRING THE CREATION OF 2 TEMPORARY RESTRICTED AREAS ('ZRT PO ALPHA' AND 'ZRT PO BRAVO').
THE 'ZRT' CAN BE **ACTIVATED** BY NOTAM WITH 72HR PRIOR NOTICE.
THIS AIP SUP IS **AVBL** AT WWW.SIA.AVIATION-CIVILE.GOUV.FR
F) FL205 G) FL225

R3164/25
TRIGGER NOTAM - AIP SUP 212/25 :
CREATION OF A TEMPORARY RESTRICTED AREA (ZRT HIRSON) FOR DAY AND NIGHT OUT-OF-SIGHT UNMANNED FLIGHTS, IN THE HAUTS DE FRANCE AREA.
THIS AIP SUP IS **AVBL** AT WWW.SIA.AVIATION-CIVILE.GOUV.FR
F) SFC G) 400FT AGL

R3166/25
TRIGGER NOTAM - AIP SUP 214/25 :
DAILY AND NIGHTLY OUT OF SIGHT UNMANNED ACFT FLIGHTS IN THE 'HAUTS DE FRANCE' AREA REQUIRING THE CREATION OF A TEMPORARY RESTRICTED AREA ('ZRT AIRGHT').
THIS AIP SUP IS **AVBL** AT WWW.SIA.AVIATION-CIVILE.GOUV.FR
F) SFC G) 400FT AGL

R3167/25
TRIGGER NOTAM - AIP SUP 215/25 :
CREATION OF 14 TEMPORARY RESTRICTED AREAS (ZRT) AND 4 TEMPORARY **DANGER** AREAS (ZDT) FOR UNMANNED AIRCRAFT FLYING OUT OF SIGHT OVER THE EASTERN CHANNEL AND THE ENGLISH CHANNEL STRAIT.
THIS AIP SUP IS **AVBL** AT WWW.SIA.AVIATION-CIVILE.GOUV.FR
F) SFC G) 1500FT AMSL

W2579/25
MODEL FLYING ACTIVITY AT 'DAMMARTIN-EN-SERVE' (78)
- RDL 194/10.1NM ARP LFFC
- RDL 291/11.9NM ARP LFPF
- PSN : 485451N 0013740E
- UPPER LIMIT : 1000FT AGL (1400FT AMSL)
- SKED : SR-SS
REF AIP FRANCE ENR 5.5
F) SFC G) 1400FT AMSL

W2578/25
MODEL FLYING ACTIVITY AT 'BARZY-SUR-MARNE' (02)
- RDL 079/7.6NM ARP LFFH :
- PSN : 490525N 0033246E
- SKED : 0800-1800 (SUMMER -1HR)
- BY DAY ONLY
REF AIP FRANCE ENR 5.5
F) SFC G) 400FT AGL

W2571/25
MODEL FLYING ACTIVITY AT 'ELETOT'
- RDL 252/8NM ARP LFOS :
- PSN : 494718N 0002607E
- SKED : SR-SS
- SLOPE FLYING
REF AIP FRANCE ENR 5.5
F) SFC G) 200FT AGL

R2442/25
TUE-THU SR-1400
TEMPORARY RESTRICTED AREA ('ZRT') NAMED 'BASE DREUX SENONCHES' :
UA (DRONE) FLIGHTS ACTIVITY
1/LATERAL LIMITS :
01NM RADIUS CIRCLE CENTERED ON 483842N 0010559E
2/STATUS :
'ZRT' AREA, WHEN **ACTIVE**, REPLACES OVERLAPING AIRSPACE.
3/ PROVIDED SERVICES :
FLIGHT INFORMATION AND ALERT PROVIDED BY SEINE INFO OR PARIS CTL OR LILLE INFO
4/OAT/GAT ENTRY CONDITIONS :
COMPULSORY AREA BYPASS EXC FOR ACFT :
- UNMANNED IMPLEMENTED BY OPERATIONS MANAGER
- CARRYING OUT MIL, CUSTOMS, POLICE, SAR, FIRE FIGHTING, MEDICAL TRANSPORT MISSIONS WHEN FORCED TO ENTER THE 'ZRT' AREA, AFTER COORDINATION WITH OPERATIONS MANAGER - PHONE : +33 7 64 86 92 53
5/ACTUAL ACT **AVBL** WITH :
LILLE INFO : 134.825MHZ
SEINE INFO : 127.815MHZ (DURING SEINE ATS SKED)
6/SPECIAL PROVISIONS :
AEROBATICS ACT NR 6206 'DREUX SENONCHES' **SUSPENDED** WHEN 'ZRT' AREA **ACTIVE**.
F) SFC G) 2600FT AMSL

R2399/25
TEMPO PROHIBITED AREA (ZIT) 'SUIPPES MOURMELON 1' - ANTI DRONE STRUGGLE :
1. LATERAL LIMITS :
SAME AS LF-R175A 'SUIPPES' (REF AIP ENR 5.1)
2. STATUS :
ZIT WHICH COEXISTS WITH OVERLAPPING AIRSPACES, EXCLUDING LF-R503 MOURMELON STAT WHEN **ACTIVATED**.
3. ENTRY CONDITIONS :
- ENTRY PROHIBITED TO ANY UNMANNED ACFT, EXC UNMANNED ACFT PERFORMING MIL, CUSTOMS, POLICE, SEARCH AND RESCUE, FIRE-FIGHTING OR MEDICAL TRANSPORTATION ACT WHEN FORCED TO ENTER.
- EXEMPTION SUBMITTED TO MANAGER AGREEMENT WITH PN 05 DAYS.
4. PROVIDED SERVICES :
SERVICES ARE PROVIDED IN ACCORDANCE WITH AIRSPACES CLASSES WITH WHICH ZIT COEXISTS.
5. AUTHORITY TO CONTACT :
- 51RI / PC TIR
- TEL : +333.26.67.81.00
F) SFC G) 500FT AGL

R2488/25
TEMPO PROHIBITED AREA (ZIT) 'SUIPPES MOURMELON 2' - ANTI DRONE FIGHTS :
1. LATERAL LIMITS :
490752N 0042227E,
0.8NM RADIUS CLOCKWISE ARCUS CENTRED ON 490801N 0042112E,
490810N 0042000E,
490752N 0042227E.
2. STATUS :
ZIT WHICH COEXISTS WITH OVERLAPPING AIRSPACES, EXCLUDING LF-R503 'MOURMELON STAT' WHEN **ACTIVATED**.
3. ENTRY CONDITIONS :
- ENTRY PROHIBITED TO ANY UNMANNED ACFT, EXC UNMANNED ACFT PERFORMING MIL, CUSTOMS, POLICE, SEARCH AND RESCUE, FIRE-FIGHTING OR MEDICAL TRANSPORTATION ACT WHEN FORCED TO ENTER.
- EXEMPTION SUBMITTED TO MANAGER AGREEMENT WITH PN 05 DAYS
4. PROVIDED SERVICES :
SERVICES ARE PROVIDED IN ACCORDANCE WITH AIRSPACES CLASSES WITH WHICH ZIT COEXISTS.
5. AUTHORITY TO CONTACT :
- 51RI / PC TIR
- TEL : +333.26.67.81.00
F) SFC G) 500FT AGL

R2569/25
TEMPO PROHIBITED AREA (ZIT) 'MAILLY' - ANTI DRONE MEASURES :
1. LATERAL LIMITS :
SAME AS LF-R6A (REF AIP ENR 5.1)
2. STATUS :
'ZIT' WHICH COEXISTS WITH OVERLAPPING AIRSPACES
3. ENTRY CONDITIONS :
- ENTRY PROHIBITED TO ANY UNMANNED ACFT, EXC UNMANNED ACFT IN STATE MISSION (DEFENCE, 'GENDARMERIE', POLICE, CUSTOM, RFFS, CIVIL SAFETY AND RESCUE)
- EXEMPTION SUBMITTED TO MANAGER AGREEMENT WITH PN 05 OPENING DAYS
4. PROVIDED SERVICES :
SERVICES ARE PROVIDED IN ACCORDANCE WITH PARTS OF AIRSPACES CLASSE WITH WHICH 'ZIT' COEXISTS
5. AUTHORITY TO CONTACT (MANAGER) :
- CENTAC MAILLY
- TEL : +333 10 10 81 75 OR +333 10 10 82 22 OR +336 72 28 64 93.
F) SFC G) 500FT AGL

R2474/25
TRIGGER NOTAM - AIP SUP 176/25 MODIFIED :
OUT-OF-SIGHT UNMANNED FLIGHTS WITHIN THE SOUTHERN REGION OF 'CHARTRES', REQUIRING THE CREATION OF A TEMPORARY RESTRICTED AREA ('ZRT DRONE').
ZRT ACTIVABLE BY NOTAM WITH A MINIMUM OF 48HR NOTICE.

MODIFICATION :
ADD, IN 'LATERAL LIMITS' ITEM, THE COORDINATES 481902N 0015055E, AT THE END OF THE COORDINATES

THIS AIP SUP IS **AVBL** AT WWW.SIA.AVIATION-CIVILE.GOUV.FR
F) SFC G) 500FT AGL

R2497/25
ZONE LF-R574 A AUVOURS MODIFIED (REF AIP FRANCE ENR 5.1):
HOURS MODIFIED : POSSIBLE ACTIVATION H24
F) SFC G) FL055

R2501/25
TEMPORARY RESTRICTED AREA ('ZRT') 'LF-R-574 C TEMP AUVOURS' FOR DEFENCE ACT, OUT OF VIEW STATE DRONE FLT
ZRT CENTER : RDL 065/7NM LFRM ARP
1 - LATERAL LIMITS :
480023N 0002101E
480023N 0002148E
475917N 0002148E
475917N 0002101E
480023N 0002101E
EXC LF-R574 A AUVOURS WHEN **ACTIVE**
2 - STATUS : TEMPORARY RESTRICTED AREA'LF-R-574 C TEMP AUVOURS' WHEN **ACTIVE**, REPLACES OVERLAPING AIRSPACE PARTS.
3 - PROVIDED SERVICES :
FLIGHT INFORMATION AND ALERT PROVIDED BY USUAL ORGANISMS
4 - OAT/GAT ENTRY CONDITIONS :
COMPULSORY AREA AVOIDANCE DURING ACT EXCEPT FOR :
- ACFT AUTHORISED BY MANAGER
- ACFT ON MIL, CUSTOMS, POLICE, SEARCH AND RESCUE, FIREFIGHTING, MEDICAL TRANSPORT OPERATIONS WHEN FORCED TO ENTER AREA, AFTER COORDINATION WITH MANAGER (+33 2 43 54 62 38 OR +33 2 43 54 62 42). 5 - MANAGER - AUHTORITY TO BE CONSULTED :
2 EME RIMA : +33 2 43 54 62 38 OR +33 2 43 54 62 42
6 - REAL ACT KNOWN BY
- MANAGER : +33 2 43 54 62 38 (ANSWERING DEVICE OUTSIDE OPENING HOURS)
- NANTES INFO : 130.275MHZ
- SEINE INFO : 127.815MHZ
- LE MANS INFO : 125.905MHZ
F) SFC G) FL055

R2339/25
TRIGGER NOTAM - AIP SUP 091/24 MODIFIED :
CREATION OF 94 TEMPORARY RESTRICTED AREAS ('ZRT') AND OF 4
TEMPORARY DANGEROUS AREAS ('ZDT'). THESE AREAS WILL BE **ACTIVATED**
BY NOTAM.

MODIFICATIONS :
1)PAGE 1
RELEVANT AUTHORITIES CONTACT DETAILS DURING OPERATION :
MIL CTL AND REPORTING CENTRE (CRC) OF CINQ-MARS-LA-PILE - PHONE :
+33 2 45 34 15 67
MIL CTL AND REPORTING CENTRE (CRC) OF MONT DE MARSAN : WITHOUT ANY
CHANGE
'EACA ROISSY' : WITHOUT ANY CHANGE
2)PAGE 18
ADD 'ZRT COTENTIN HIGH' :
-LATERAL LIMITS :
500000N 0010706W
500000N 0005922W
491619N 0005714W
491637N 0010525W
500000N 0010706W
-VERTICAL LIMITS :
FL205/FL215
-ACTUAL TIME SLOTS PROVIDED BY :
BREST CTL (SECTEUR JS) : 127.385MHZ

THIS AIP SUP IS **AVBL** AT WWW.SIA.AVIATION-CIVILE.GOUV.FR
F) FL095 G) FL215

R2096/25
TRIGGER NOTAM - AIP SUP 159/25 : WEAPON AIRCRAFT TRAINING
REQUIRING
THE CREATION, ON AN EXPERIMENTAL BASIS, OF 3 TEMPORARY RESTRICTED
AREAS IN THE SAINT-DIZIER REGION.
THIS AIP SUP IS **AVBL** AT WWW.SIA.AVIATION-CIVILE.GOUV.FR
F) FL065 G) FL195

R1851/25
TEMPORARY RESTRICTED AREA (ZRT) OVER 'LE DOMAINE DE CHAMBORD'
1. LATERAL LIMITS :
1NM RADIUS CIRCLE CENTRED ON 473702N 0013106E
EXCEPT AREA LF-R149A WHEN **ACTIVATED**
2. STATUS :
ZRT REPLACES THE OVERLAPPING AIRSPACE PARTS.
3. SERVICES PROVIDED :
FLIGHT INFORMATION AND ALERT PROVIDED BY SEINE INFO OR PARIS INFO
4. GAT/OAT ENTRY CONDITIONS : MOTOR-PROPELLED ACFT :
COMPULSORY AREA AVOIDANCE EXCEPT FOR:
- ACFT ON MIL ACTIVITY, CUSTOMS, POLICE, RESEACH, RESCUE
,FIRE FIGHTING AND MEDICAL TRANSPORT OPERATIONS WHEN FORCED TO
ENTER THE ZRT.
- ACFT IN IFR RNP 30 PROCEDURE ON 'BLOIS LE BREUIL' **AD** (LFOQ)
- ACFT AUTHORIZED BY 'LE PREFET DU LOIR ET CHER' AFTER NOTICE OF
'DSAC OUEST' AND OF THE 'DOMAINE NATIONAL DE CHAMBORD' GENERAL
MANAGER
- MODEL FLYING ACTIVITY NR8272 'VINEUIL'
5. INFO FOR AIR USERS :
SEINE INFO 127.815MHZ (DURING ATS SKED)
PARIS INFO 129.625MHZ (OUTSIDE 'SEINE' ATS SKED)
F) SFC G) 2600FT AMSL

R1655/25
TEMPORARY RESTRICTED AREA (ZRT) CLOSE TO FORGES LES EAUX:
UNMANED ACFT FLIGHT OUT OF SIGHT
1/ LATERAL LIMITS:
4.3 NM RADIUS CIRCLE CENTRED ON 493611N 0013124E
2/STATUS:
ZRT WHICH, WHEN **ACTIVATED**, REPLACES THE OTHER OVERLAPPING AIRSPACE PARTS.
3/PROVIDED SERVICES :
FLIGHT INFORMATION AND ALERT PROVIDED BY 'LILLE INFO' OR 'BEAUVAIS INFO'
4/ OAT/GAT ENTRY CONDITIONS :
COMPULSORY AVOIDANCE DURING ACTUAL ACTIVITY EXC :
-UNMANED ACFT PARTICIPATED TO OPERATION
-ACFT PERFORMING MILITARY, CUSTOMS, POLICE, SEARCH AND RESCUE, FIRE FIGHTING, MEDICAL TRANSPORTATION OPERATIONS WHEN FORCED TO ENTER AFTER COODINATION WITH OPERATION DIRECTOR(TEL: +33 279 580 040) 5/ACTUAL ACTIVITY KNOWN BY :
LILLE INFO: 134.825MHZ
BEAUVAIS APP: 123.985MHZ
F) SFC G) 400FT AGL

W1335/25
AEROBATICS ACTIVITY NR6457 'SAINCAIZE' (58) **WITHDRAWN**
PSN : 465600N 0030400E
REF ENR5.5
F) 2500FT AGL G) 4500FT AGL

R1350/25
TRIGGER NOTAM - AIP SUP 111/25.
UNMANNED STATE ACFT OVER 'SALBRIS' AREA REQUIRING THE CREATION OF A TEMPORARY RESTRICTED AREA ('ZRT DRONES').
'ZRT' ACTIVATION BY NOTAM WITH 48HR PRIOR NOTICE.
THIS AIP SUP IS **AVBL** AT WWW.SIA.AVIATION-CIVILE.GOUV.FR
F) SFC G) 3400FT AMSL

R1126/25
TRIGGER NOTAM - AIP SUP 094/25 :
PARACHUTING WITH CANOPY DRIFTING IN THE ROMORANTIN AREA REQUIRING THE CREATION OF 4 TEMPORARY RESTRICTED AREAS.
THIS AIP SUP IS **AVBL** AT WWW.SIA.AVIATION-CIVILE.GOUV.FR
F) SFC G) FL285

R1172/25
TRIGGER NOTAM - AIP SUP 088/25 MODIFIED :
UAV FLIGHTS IN CHAUMONT, MAILLY, SUIPPES AND SISSONNE REGIONS
REQUIRING THE CREATION OF A 5 TEMPORARY RESTRICTED AREAS.
THESE AREAS CAN BE **ACTIVATED** FROM MON 05H00 TO FRI 11H00 (SUM :
-1HR) EXCEPT ON PUB HOL, BY A D-7 PRIOR NOTICE NOTAM.

--- 'ZRT TRANSIT B', HAND AMEND THE COORDINATES OF THE POINT AFTER
THE FIRST ARC OF CIRCLE :
READ 483250N 0042902E INSTEAD OF 083250N 0042902E.

THIS AIP SUP IS **AVBL** AT WWW.SIA.AVIATION-CIVILE.GOUV.FR
F) FL055 G) FL125

W0904/25
AEROBATICS ACTIVITY AT 'PRE SAINT MARTIN' :
AXIS 170/350
LENGTH 2000M
CENTRED ON PSN 481243N 0012936E (RDL 026/10NM ARP LFOC CHATEAUDUN)
WINTER SKED : 0900-1100 1300-1600 (SUMMER SKED : -1HR)
USERS INFORMATION :
SEINE INFO 127.815MHZ
PARIS INFO 129.625MHZ
F) 1500FT AMSL G) 4500FT AMSL

W0928/25
SR-SS
PARAGLIDER WINCHING ACT AT 'VIENNE EN VAL' :
RDL : 196/05NM LFOZ ARP
PSN : 474858N 0020749E
(FLASHING LIGHTS ON WINCH)
F) SFC G) 2000FT AMSL

R1032/25
TRIGGER NOTAM - AIP SUP 233/24 MODIFIED :
REMOTELY PILOTED AIRCRAFT FLYING OVER FRANCE UPPER AIRSPACE
REQUIRING THE CREATION OF A TEMPORARY DANGEROUS AREA AND TEMPORARY
RESTRICTED AREAS.
THESE AREAS ARE **ACTIVATED** BY NOTAM 48HR BEFORE (ON WORKING DAY).

CORRECT FOR READ :
RELEVANT AUTHORITIES CONTACT DETAILS
'CDC LYON MONT VERDUN' (RAMBERT) : +33 4 87 65 61 99

THIS AIP SUP IS **AVBL** AT WWW.SIA.AVIATION-CIVILE.GOUV.FR
F) FL490 G) FL550

R0685/25
TRIGGER NOTAM - AIP SUP 048/25
CREATION OF 6 TEMPO RESTRICTED AREAS (ZRT) AND 5 TEMPO **DANGER**
AREAS FOR UNMANNED ACFT FLYING OUT OF SIGHT IN THE BAY OF 'SEINE'
AND 'COTENTIN', ACTIVABLE BY NOTAM WITH A 48HR PN.
THIS AIP SUP IS **AVBL** AT WWW.SIA.AVIATION-CIVILE.GOUV.FR
F) SFC G) 2000FT AMSL

W0540/25
SR-SS
MODEL FLYING ACTIVITY NR 8700 'LAMOTTE BEUVRON' MODIFIED :
NEW PSN : 473558N 0020048E (PSN DISPLACED 1000M IN THE
SOUTH-EAST). F) SFC G) 1400FT AMSL

R0609/25
TRIGGER NOTAM - AIP SUP 039/25
CREATION OF 2 TEMPO RESTRICTED AREAS FOR UNMANNED ACFT IN THE
SOUTH OF PARIS, **ACTIVATED** BY NOTAM.
THIS AIP SUP IS **AVBL** AT WWW.SIA.AVIATION-CIVILE.GOUV.FR
F) SFC G) 500FT AGL

R0682/25
TRIGGER NOTAM - AIP SUP 046/25
MIL ACTIVITIES REQUIRING THE CREATION OF 12 TEMPO RESTRICTED AREAS (ZRT) IN THE AREA OF 'CHATEAUDUN' AND 'ORLEANS-BRICY' **AD**, ACTIVABLE BY
NOTAM WITH 48HR PN.
THIS AIP SUP IS **AVBL** AT WWW.SIA.AVIATION-CIVILE.GOUV.FR
F) SFC G) FL065
W0155/25
SR-SS
MODEL FLYING ACTIVITY NR 8274 'SANDILLON' CHANGED :
PSN CHANGED : 474918N 0020323E
(1.2NM TO THE SOUTH-SOUTHWEST)
F) SFC G) 500FT AGL
W2942/24
SR-SS
UNMANNED AIRCRAFT (UA) ACTIVITY ABOVE 'VAUDOY EN BRIE' FOR EXPERIMENTS
PSN : 484024N 0030441E (COLOCATED WITH MODEL FLYING ACTIVITY AEM NR 8604 'VAUDOY EN BRIE')
RDL 031/5.4NM ARP LFAI.
F) SFC G) 1400FT AMSL

++++++++++++++++++++++++++++++ ROUTE ++++++++++++++++++++++++++++++

F0301/26
TRIGGER NOTAM - PERM AIRAC AIP AMDT 03/26 WEF 19 MAR 2026.
MODIFICATION OF AWY N872 : ADDITION OF 'PITHI' POINT
F1752/25
'NORTH EAST' FRA CELL - AIRAC AIP AMDT, CHART ENR 6.2 ED2/2025 :
ADD THE FOLLOWING SEGMENTS :
AWY B3 : RLP-VUCTU / VERMA-CMB
AWY J10 : DIKOL-SUIPE
AWY L613 : VESAN-RATUK / RATUK-SOVAT
AWY L615 : LUREN-DJL
AWY N57 : EGOZE-ABB
AWY N872 : MEDIL-LESDO
AWY N873 : ADUTO-VEKIN
AWY N874 : VENOR-EGOZE / NURMO-VENOR / PERON-NURMO / SULEX-PERON / CMB-SULEX / VEKIN-CMB
AWY Q763 : TALUD-RAPOR
AWY T22 : ABB-RATUK
AWY T37 : TRO-BOLLY / BOLLY-KASON / KASON-DJL
AWY T372 : VERMA-LESDO
AWY Y473 : LUMIL-TULNI
AWY Z110 : AMPUM-VAVOT / VAVOT-MMD
AWY Z173 : VEKIN-ARVOL
AWY Z373 : CMB-ARVOL
FOR MORE DETAILS, REFERENCE AIP FRANCE ENR 3.2.
F1751/25
'CENTER' FRA CELL - AIRAC AIP AMDT 12/25, CHART ENR 6.2 ED2/2025 :
ADD FOLLOWING SEGMENTS :
AWY A3 : MOU - OMANI / OMANI - FEDZI / FEDZI - LESPI.
FOR MORE DETAILS, REFERENCE AIP FRANCE ENR 3.2-2.

F1714/25
ADDITION OF THE SIGNIFICANT POINT 'PITHI' ON AWY N872 :
COORDINATES : 501126.5N 0033422.2E
MEDIL
204DEG 10NM FL500 FL115 PARIS/REIMS
PITHI
204DEG 25NM FL500 FL115 PARIS/REIMS
LESDO
REFERENCE AIP FRANCE ENR 3.2-56 AND ENR 4.4-25.

==========
EXTENDED AREA AROUND DESTINATION ALTERNATE AIRPORT(S)
==========

LFFF FRANCE FIR/UIR

Please see section EXTENDED AREA AROUND DESTINATION

==========
AREA ENROUTE DEPARTURE - DESTINATION
==========

LFFF FRANCE FIR/UIR

Please see section EXTENDED AREA AROUND DESTINATION

[Company NOTAM]

==========
CREW ALERT
==========

SB007/14
SUBJECT: AUTO COST INDEXES
WHEN PLANNING A COST INDEX, 2 OPTIONS ARE AVAILABLE. PILOTS MAY EITHER SELECT A SPECIFIC COST INDEX NUMBER FROM THE LIST, OR THEY MAY SELECT "AUTO". WHEN PLANNING AN "AUTO" COST INDEX, THE SYSTEM WILL REFERENCE THE SCHEDULED "TIME ENROUTE" OPTION AND ATTEMPT TO CHOOSE A COST INDEX WHICH CLOSELY MATCHES THIS VALUE. NOTE THAT THE "TIME ENROUTE" OPTION IS MEANT AS A GATE TO GATE TIME (AS INDICATED ON AN AIRLINE'S FLIGHT SCHEDULE, FOR EXAMPLE). IF A "TIME ENROUTE" OF 2:30 IS SELECTED, THE SYSTEM WILL SUBTRACT THE TAXI TIMES FROM THIS VALUE TO DETERMINE THE SCHEDULED AIR TIME. IT WILL THEN DETERMINE AND USE THE COST INDEX WHICH MATCHES THIS AIR TIME.

SB003/13
SUBJECT: FLIGHT RELEASE UNITS
ALL FLIGHT CREW: PLEASE PAY SPECIAL ATTENTION TO THE UNITS SELECTION WHEN GENERATING A FLIGHT PLAN. FAILURE TO IDENTIFY THE CORRECT UNITS WHEN REFUELING PRIOR TO FLIGHT CAN RESULT IN DEPARTING WITH INSUFFICIENT FUEL AND/OR AN ERRONEOUS PAYLOAD.

==========
CREW BULLETIN
==========

NIL

========== END OF LIDO-NOTAM-BULLETIN ==========

12.0W
9.0W
6.0W
3.0W
0.0E
3.0E
6.0E
9.0E
49.0N
47.0N
45.0N
43.0N
41.0N
39.0N
LFPG
LFOK
LEMD
Flight: AY1008
Dep / Dest: MAD / CDG

SIG WX FL 100-450 WASHINGTON
VALID 12 UTC ON 22.Mar.2026

1 400 160

Flight: AY1008 Dep / Dest: MAD / CDG

SIG WX FL 250-630 WASHINGTON
VALID 12 UTC ON 22.Mar.2026

1 400 XXX

Flight: AY1008 Dep / Dest: MAD / CDG

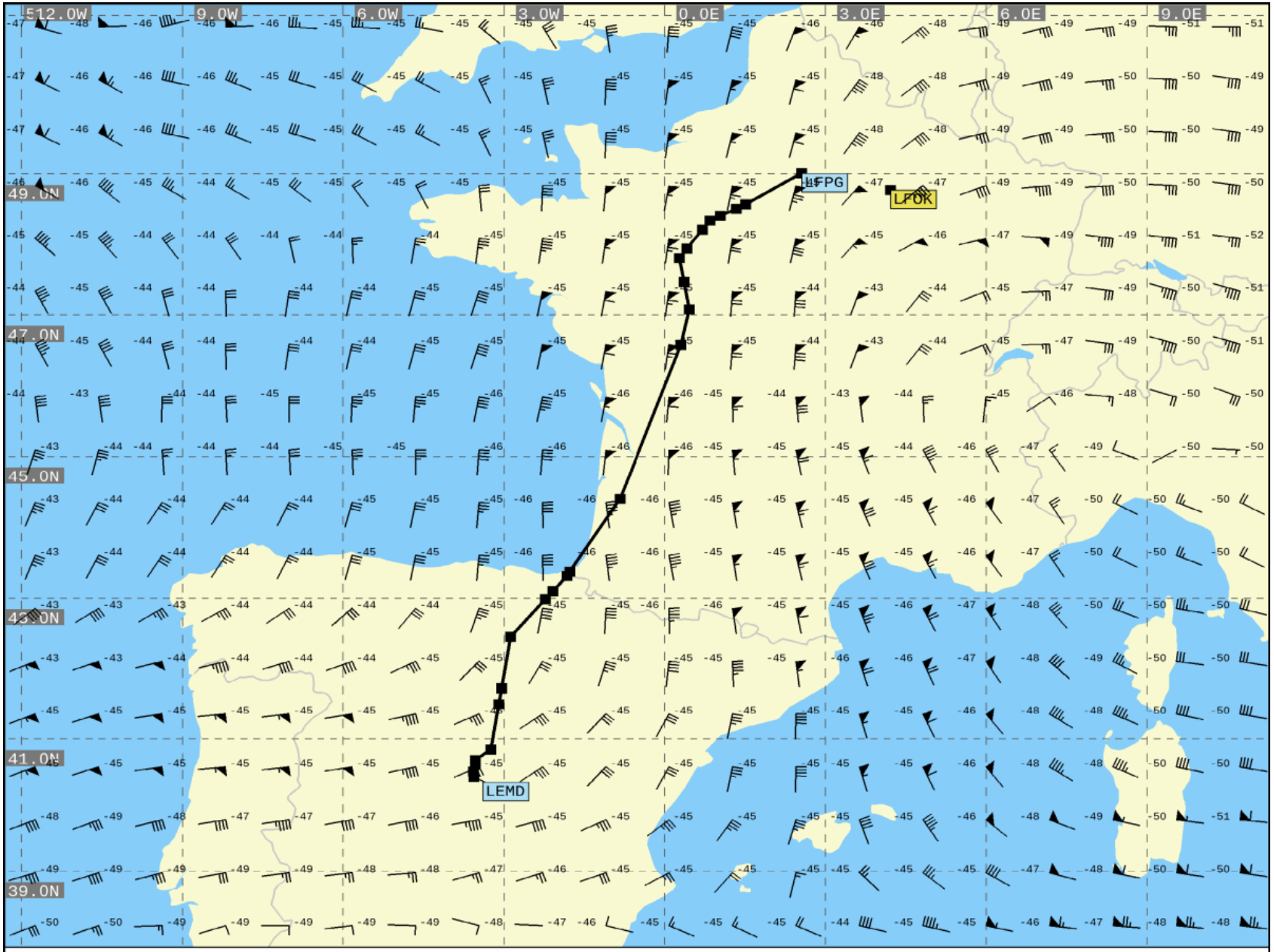

UAD VALID 12 UTC ON 22.Mar.2026 06h FL 300

Flight: AY1008 Dep / Dest: MAD / CDG

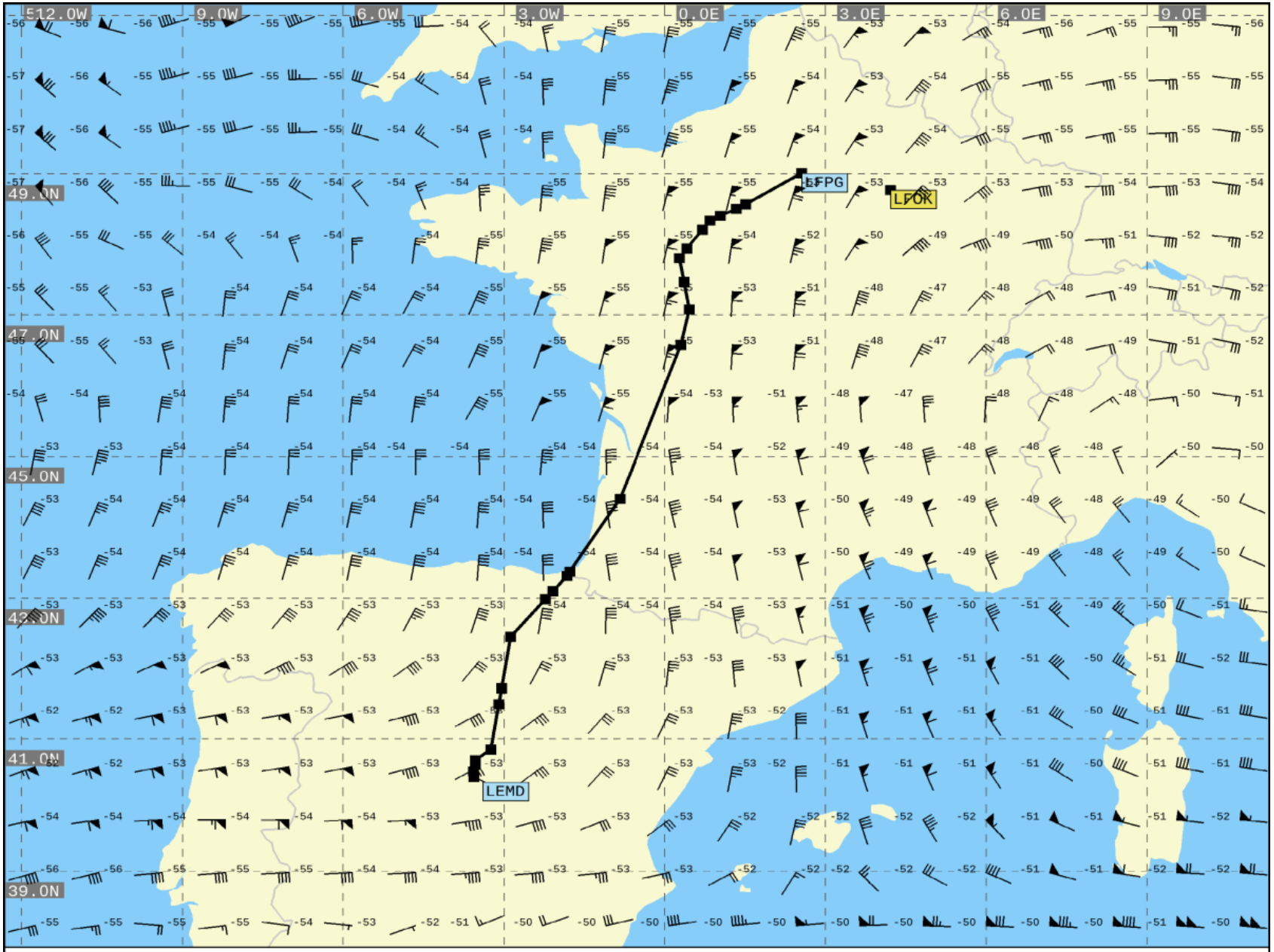

UAD VALID 12 UTC ON 22.Mar.2026 06h FL 340

Flight: AY1008 Dep / Dest: MAD / CDG

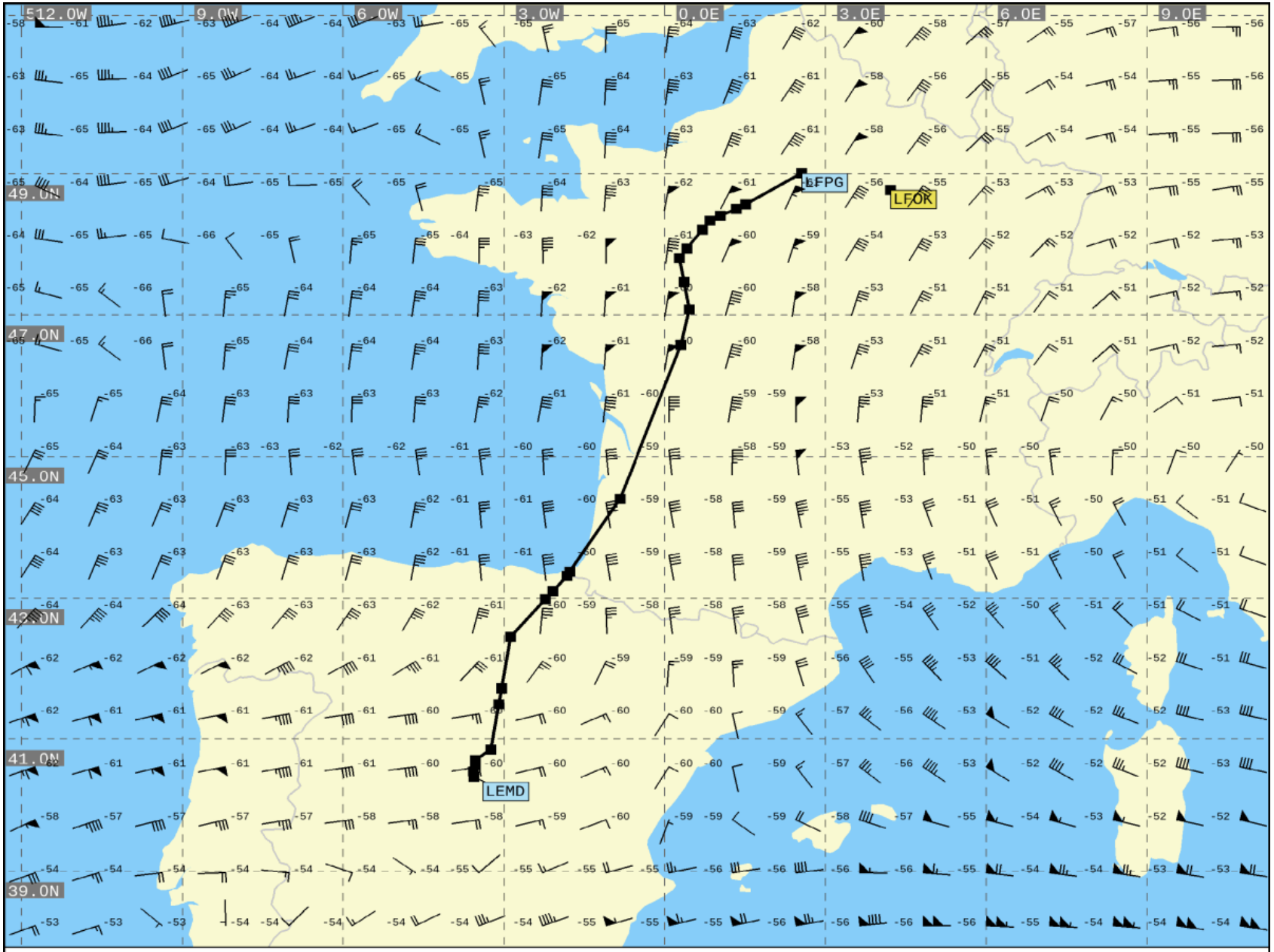

UAD VALID 12 UTC ON 22.Mar.2026 06h FL 390

Flight: AY1008 Dep / Dest: MAD / CDG

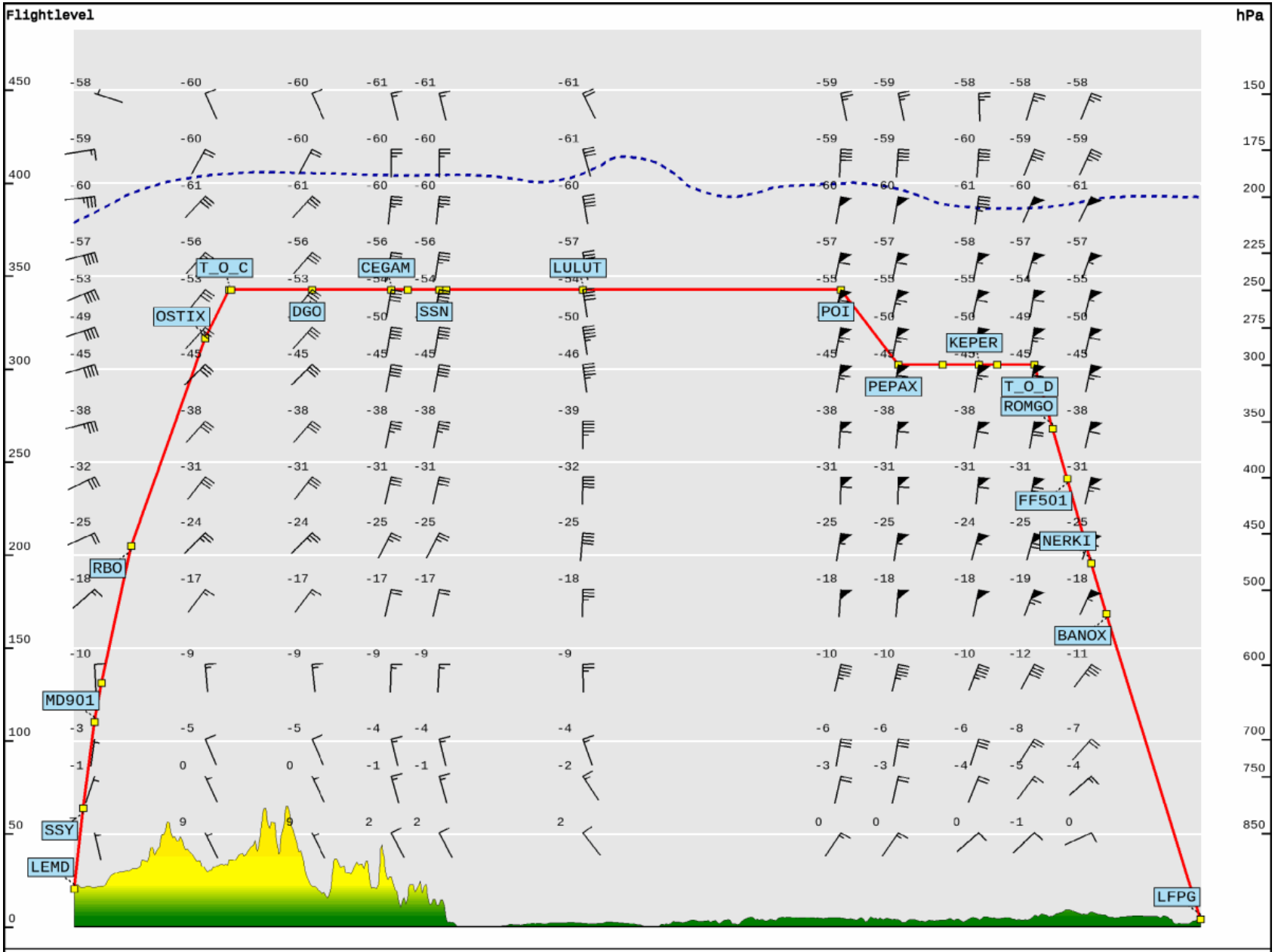

Profile VALID 12 UTC ON 22.Mar.2026 06h Average

Flight: AY1008 Dep / Dest: MAD / CDG

End of Document: Total Number of Pages: 81