[OFP]

```
---------------------------------------------------------------------
FIN1009   23MAR2026    LFPG-EBBR   A333 N339SB  RELEASE 0832 23MAR26
OFP 1     CHARLES-DE-GAULLE-BRUSSELS NATL
                                  WX PROG 2309 2312   OBS 2300 2300

  ATC C/S   FIN1009      LFPG/CDG   EBBR/BRU      CRZ SYS      CI 82
23MAR2026   N339SB       0905/0925  1002/1010     GND DIST       169
A330-300 / TRENT 772                STA  1005     AIR DIST       184
                         CTOT:....                G/C DIST       136
                                                  AVG WIND   002/027
MAXIMUM    TOW 233000  LAW 187000  ZFW 175000     AVG W/C       M025
ESTIMATED  TOW 168840  LAW 165210  ZFW 159227     AVG ISA       M001
                                                  AVG FF KGS/HR 5879
                                                  FUEL BIAS    P00.0
ALTN EBLG                                         TKOF ALTN  .......
FL STEPS LFPG/0240/
---------------------------------------------------------------------
DISP RMKS   NIL

---------------------------------------------------------------------
         PLANNED FUEL
---------------------------------
FUEL           ARPT   FUEL   TIME
---------------------------------
TRIP            BRU   3630   0037
CONT 15 MIN           1470   0015
ALTN            LGG   2337   0030
FINRES                2176   0030
---------------------------------
MINIMUM T/OFF FUEL    9613   0152
---------------------------------
EXTRA                    0   0000
---------------------------------
T/OFF FUEL            9613   0152
TAXI            CDG    544   0020
---------------------------------
BLOCK FUEL      CDG  10157
PIC EXTRA            .....
TOTAL FUEL           .....
REASON FOR PIC EXTRA ............
---------------------------------------------------------------------
FMC INFO:
FINRES+ALTN           4513
TRIP+TAXI             4174
---------------------------------------------------------------------
NO TANKERING RECOMMENDED (P)
---------------------------------------------------------------------
I HEREWITH CONFIRM THAT I HAVE PERFORMED A THOROUGH SELF BRIEFING
ABOUT THE DESTINATION AND ALTERNATE AIRPORTS OF THIS FLIGHT
INCLUDING THE APPLICABLE INSTRUMENT APPROACH PROCEDURES, AIRPORT
FACILITIES, NOTAMS AND ALL OTHER RELEVANT PARTICULAR INFORMATION.

DISPATCHER: GAIL STARK                  PIC NAME: GM, PAYAM

TEL: +1 800 555 0199               PIC SIGNATURE: ...............
```

```
ALTERNATE ROUTE TO:                                          FINRES   2176
APT      TRK DST              VIA                   FL  WC  TIME  FUEL
----------------------------------------------------------------------
EBLG/04R 113 100  LNO2X LNO LNO7X                  110 M002 0030  2337
----------------------------------------------------------------------

MEL/CDL ITEMS DESCRIPTION
------------- -----------

----------------------------------------------------------------------

ROUTING:

ROUTE ID: DEFRTE
LFPG/09R NURMO6G NURMO DCT CMB Z373 ARVOL ARVOL9A EBBR/01

----------------------------------------------------------------------
DEPARTURE ATC CLEARANCE:
.
.
.
----------------------------------------------------------------------
                         OPERATIONAL IMPACTS
                         -------------------
WEIGHT CHANGE UP 1.0          TRIP  P 0020 KGS   TIME P 0000
WEIGHT CHANGE DN 1.0          TRIP  M 0016 KGS   TIME P 0000
FL CHANGE     UP FL1                 NOT AVAILABLE
FL CHANGE     DN FL1                 NOT AVAILABLE
FL CHANGE     DN FL2          TRIP  P 0010 KGS   TIME P 0000
SPD CHANGE    CI 0            TRIP  M 0059 KGS   TIME P 0001
SPD CHANGE    CI 300          TRIP  P 0034 KGS   TIME M 0000
----------------------------------------------------------------------
```

```
-----------------------------------------------------------------------
ATIS:
.
.
--------- --------- --------- --------- --------- --------- --------
RVSM: ALT SYS  LEFT:             STBY:             RIGHT:

--------- --------- --------- --------- --------- --------- --------
-----------------------------------------------------------------------
                                TIMES
                                -----

               ESTIMATED        SKED              ACTUAL

OUT            0905Z/1005L      0905Z/1005L       ......Z

OFF            0925Z/1025L      0925Z/1025L       ......Z

ON             1002Z/1102L      0957Z/1057L       ......Z

IN             1010Z/1110L      1005Z/1105L       ......Z

BLOCK TIME     0105             0100              ......

-----------------------------------------------------------------------
                               WEIGHTS
                               -------

                EST      MAX     ACTUAL

PAX             306              ......

BAG/CARGO       7.6              ......

PAYLOAD        31.9              ......

ZFW           159.2    175.0     ......

FUEL           10.2     31.9     ......  POSS EXTRA 21.8

TOW           168.8    190.6  LDG......

STAB TRIM                        ......

LAW           165.2    187.0     ......

-----------------------------------------------------------------------
                       TERRAIN CLEARANCE CHECK
                       -----------------------
DD CHECK - TERRAIN CLEARANCE CHECK DISABLED

DP CHECK - TERRAIN CLEARANCE CHECK DISABLED
-----------------------------------------------------------------------
```

FLIGHT LOG

MOST CRITICAL MORA 02700 FEET AT PG092///MXSHR 02 AT TOC

AWY POSITION IDENT FREQ	LAT LONG	EET TTLT	ETO ATO	FL MORA DIS	IMT ITT RDIS	MN TAS GS	WIND COMP SHR	OAT TDV TRP	EFOB AFOB	PBRN ABRN
					075				9.6	0.5
CHARLES-DE-	N4900.6		...	25	075		M003			
LFPG	E00232.9	0000	...		169	263			....	....
NURMO6G				048	083	.41	009/007	01	9.0	1.2
PG091	N4901.7	0002	...	25	085		M003	M04		
PG091	E00239.7	0002	...	5	164	263		370	....	....
NURMO6G				067	000	.42	011/010	M02	8.8	1.3
PG092	N4901.9	0000	...	27	001		M003	M04		
PG092	E00242.9	0002	...	2	162	272		370	....	....
NURMO6G				240	001	.72	000/033	M34	7.3	2.8
T O C	N4935.8	0006	...	25	001	439	M033	M01		
	E00244.6	0008	...	34	128	406	2	376	....	....
NURMO6G				240	030	.70	000/033	M34	7.1	3.0
NURMO	N4949.6	0003	...	25	032	424	M033	M01		
NURMO	E00245.3	0011	...	14	114	391	2	377	....	....
DCT				240	032	.70	000/033	M34	6.7	3.4
CAMBRAI EPI	N5013.7	0004	...	23	034	424	M028	M01		
CMB	E00309.1	0015	...	29	85	396	2	377	....	....
112.60										
Z373				240	034	.70	359/033	M34	6.6	3.6
T O D	N5020.3	0001	...	23	034	423	M027	M01		
	E00316.2	0016	...	8	77	396	2	377	....	....
Z373				185	033	.64	004/023	M22	6.5	3.6
ARVOL	N5032.7	0004	...	25	034		M020	P00		
ARVOL	E00329.8	0020	...	15	62	380		377	....	....
BRUSSELS FIR										
-EBBU	N5030.0	0000	...							
	E00326.9	0020	...	3	59					
ARVOL9A				129	033	.57	014/021	M11	6.5	3.7
AKOVI	N5044.8	0003	...	25	035		M020	P00		
AKOVI	E00343.1	0023	...	12	47	345		377	....	....
ARVOL9A				092	056	.44	018/017	M04	6.4	3.7
RODRI	N5052.6	0002	...	23	058		M016	M01		
RODRI	E00351.8	0025	...	10	37	271		378	....	....
ARVOL9A				070	092	.43	016/011	M01	6.4	3.8
KERKY	N5055.6	0001	...	24	094		M008	M02		
KERKY	E00359.6	0026	...	6	31	269		378	....	....

```
AWY                            FL   IMT   MN    WIND  OAT  EFOB  PBRN
POSITION    LAT      EET ETO MORA  ITT  TAS    COMP  TDV
IDENT       LONG    TTLT ATO DIS  RDIS   GS     SHR  TRP  AFOB  ABRN
FREQ
-----------------------------------------------------------------------
ARVOL9A                                                     6.0   4.2
BRUSSELS NA N5054.1 0011 ...
EBBR       E00429.1 0037 ...  31                          ....  ....
```

WIND INFORMATION

CLIMB	T O C	NURMO	CMB
350 010/075 -56	280 005/047 -42	280 005/047 -42	280 005/048 -42
310 009/061 -49	260 001/039 -38	260 001/039 -38	260 001/040 -38
200 026/030 -25	240 000/033 -34	240 000/033 -34	240 359/033 -34
150 022/023 -14	220 006/032 -29	220 006/032 -29	220 006/032 -29
100 015/017 -06	200 015/030 -25	200 015/030 -25	200 015/030 -25

T O D	DESCENT
280 005/048 -42	350 011/078 -56
260 001/040 -38	310 010/064 -48
240 359/033 -34	200 015/030 -25
220 006/032 -29	150 011/020 -15
200 015/030 -25	100 018/019 -05

[ATC Flight Plan]

```
-----------------------------------------------------------------------
                          ICAO FLIGHT PLAN
                          ----------------

FF LFFFZQZX EBBUZQZX
230832 CYULSBFP
(FPL-FIN1009-IS
-A333/H-SDE3GHIJ2J3J5M1RVWXY/LB2D1
-LFPG0905
-N0424F240 NURMO6G NURMO DCT CMB Z373 ARVOL ARVOL9A
-EBBR0027 EBLG
-PBN/A1B1C1D1O1S2 DOF/260323 REG/N339SB EET/EBBU0019 OPR/FIN PER/C
 RMK/TCAS)
```

[Additional Info]

D I S P A T C H B R I E F I N G I N F O AY1009 LFPG/EBBR

[Runway Analysis]

```
----------------------------------------------------------------------

TAKEOFF AND LANDING REPORT FIN 1009 LFPG-EBBR 23MAR26
TLR-1 SEQ-167092145 23MAR26 0832Z
A/C N339SB  A330-300 TRENT 772  BEW/CG 127303/.....

/// TAKEOFF DATA ///

APT   PRWY  POAT PWIND  PQNH  PMRTW FLP MT V1 VR V2 PTOW MFPTW LIMIT
LFPG  09R   7.0  009M05 1019  2330  1   53 27 27 37 1688 1906  AFM

RMKS FLEX - SEL TEMP 53
     BLEEDS ON
     WET RUNWAY
     ENG A/I ON

---- ---- ------ ----- ------- --- --- --- --- --- -----------------
RWY  OAT  WIND   QNH   MRTW    FLP V1  VR  V2  PWR CONFIG/CONDITION

---------------------------- ACARS RUNWAYS --------------------------
RWY          ACARS  LENGTH PMTOW NOTES
08L                 13589  2330 ILS 108.70
08R                  8858  2330 ILS 108.55
09L                  8858  2327 ILS 109.35
09R                 13780  2330 ILS 110.10
26L                  8858  2281 ILS 108.35
26R                 13589  2330 ILS 111.95
27L                 13780  2330 ILS 110.70
27R                  8858  2327 ILS 110.35

------------- WET RWY - PTOW - CALM WIND - ENG A/I ON --------------
RWY          MTOW MT CONFIG                   FLP  V1  VR  V2  LIMIT
08L          2330 53 FLEX - BLEEDS ON           1 127 127 138  AFM
08R          2330 53 FLEX - BLEEDS ON           1 127 127 138  AFM
09L          2321 53 FLEX - BLEEDS ON           1 127 127 137  FLD
09R          2330 53 FLEX - BLEEDS ON           1 127 127 137  AFM
26L          2304 53 FLEX - BLEEDS ON           1 127 127 138  FLD
26R          2330 53 FLEX - BLEEDS ON           1 127 127 138  AFM
27L          2330 53 FLEX - BLEEDS ON           1 127 127 137  AFM
27R          2330 53 FLEX - BLEEDS ON           1 127 127 137  AFM

-------- WET RWY - PTOW PLUS 4000 - CALM WIND - ENG A/I ON ---------
RWY          MTOW MT CONFIG                   FLP  V1  VR  V2  LIMIT
08L          2330 53 FLEX - BLEEDS ON           1 129 129 138  AFM
08R          2330 53 FLEX - BLEEDS ON           1 129 129 138  AFM
09L          2321 53 FLEX - BLEEDS ON           1 129 129 137  FLD
09R          2330 53 FLEX - BLEEDS ON           1 129 129 137  AFM
26L          2304 53 FLEX - BLEEDS ON           1 129 129 138  FLD
26R          2330 53 FLEX - BLEEDS ON           1 129 129 138  AFM
27L          2330 53 FLEX - BLEEDS ON           1 129 129 137  AFM
27R          2330 53 FLEX - BLEEDS ON           1 129 129 137  AFM
```

```
------------- DRY RWY - PTOW - CALM WIND - ENG A/I ON --------------
RWY          MTOW MT CONFIG                   FLP  V1  VR  V2  LIMIT
08L          2330 53 FLEX - BLEEDS ON           1 127 127 138  AFM
08R          2330 53 FLEX - BLEEDS ON           1 127 127 138  AFM
09L          2330 53 FLEX - BLEEDS ON           1 127 127 137  AFM
09R          2330 53 FLEX - BLEEDS ON           1 127 127 137  AFM
26L          2330 53 FLEX - BLEEDS ON           1 127 127 138  AFM
26R          2330 53 FLEX - BLEEDS ON           1 127 127 138  AFM
27L          2330 53 FLEX - BLEEDS ON           1 127 127 137  AFM
27R          2330 53 FLEX - BLEEDS ON           1 127 127 137  AFM

-------- DRY RWY - PTOW PLUS 4000 - CALM WIND - ENG A/I ON ---------
RWY          MTOW MT CONFIG                   FLP  V1  VR  V2  LIMIT
08L          2330 53 FLEX - BLEEDS ON           1 129 129 138  AFM
08R          2330 53 FLEX - BLEEDS ON           1 129 129 138  AFM
09L          2330 53 FLEX - BLEEDS ON           1 129 129 137  AFM
09R          2330 53 FLEX - BLEEDS ON           1 129 129 137  AFM
26L          2330 53 FLEX - BLEEDS ON           1 129 129 138  AFM
26R          2330 53 FLEX - BLEEDS ON           1 129 129 138  AFM
27L          2330 53 FLEX - BLEEDS ON           1 129 129 137  AFM
27R          2330 53 FLEX - BLEEDS ON           1 129 129 137  AFM

/// LANDING DATA ///

APT   PRWY  POAT PWIND  PQNH  PMRLW FLP  PLDW  LIMIT
EBBR  01    9.0  318M05 1019  1870  FULL 1652  AFM

RMKS NONE

-------- ---- ------ ----- ------- --- ----- --- -------------------
RWY      OAT  WIND   QNH   MRLW    FLP VREF  PWR CONFIG/CONDITION

--------------------------- ACARS RUNWAYS --------------------------
RWY          ACARS  LENGTH PMRLW NOTES
01                   9649  1870 ILS 109.90
07L                 10991  1870
07R                 10131  1870
19                   9078  1870 ILS 111.15
25L                 10531  1870 ILS 110.35
25R                 10955  1870 ILS 108.90

------------- FLAPS FULL - PACKS ON - NO ENROUTE ICING -------------
DRY RWY / WET RWY
            01             07L            07R            19
  OAT       9649 FT        10991 FT       10131 FT       9078 FT
   04       1870A/1870A    1870A/1870A    1870A/1870A    1870A/1870A
 / 09       1870A/1870A    1870A/1870A    1870A/1870A    1870A/1870A
   14       1870A/1870A    1870A/1870A    1870A/1870A    1870A/1870A
HW/10KT         0/    0        0/    0        0/    0        0/    0
TW/10KT         0/    0        0/    0        0/    0        0/    0
```

```
            25L             25R
  OAT       10531 FT        10955 FT
   04       1870A/1870A     1870A/1870A
 / 09       1870A/1870A     1870A/1870A
   14       1870A/1870A     1870A/1870A
HW/10KT         0/    0         0/    0
TW/10KT         0/    0         0/    0

-------- LANDING DISTANCE - FLAPS FULL - MAX MANUAL BRAKING --------
                    ACTUAL             FACTORED
  LDW     VREF      DRY       WET      DRY       WET
  1620    127      3267      4124     4330      5315
  1640    128      3294      4157     4371      5364
/ 1660    128      3320      4191     4413      5414
  1680    129      3347      4224     4454      5463
  1700    130      3374      4258     4496      5513
HW/KT               -20       -25      -22       -29
TW/KT                59        76       89       107

END TAKEOFF AND LANDING REPORT FIN 1009 LFPG-EBBR 23MAR26
```

[Airport WX List]

```
-----------------------------------------------------------------
LFPG --> EBBR    AY  1009 / 23MAR2026
LIDO/WEATHER SERVICE       DATE : 23Mar2026   TIME : 08:32 UTC

AIRMETs:
  No Wx data available

SIGMETs:
  No Wx data available

Tropical Cyclone SIGMETs:
  No Wx data available

Volcanic Ash SIGMETs:
  No Wx data available

Departure:
LFPG/CDG  CHARLES-DE-GAULLE
  SA  230800  VRB05KT 3000 BR NSC 07/05 Q1019 NOSIG
  FT  230500  2306/2412 01008KT 2500 BR NSC TX15/2315Z TN05/2403Z
              BECMG 2307/2309 CAVOK
              TEMPO 2321/2406 VRB03KT
              BECMG 2410/2412 23010KT

Destination:
EBBR/BRU  BRUSSELS NATL
  SA  230820  32005KT 7000 NSC 09/06 Q1019 NOSIG
  FT  230500  2306/2412 34003KT CAVOK
              PROB40 2306/2308 4000 BR
              PROB30 2306/2307 2500 BR
              BECMG 2408/2411 23010KT

Destination Alternates:
EBLG/LGG  LIEGE
  SA  230820  26004KT 230V290 9000 NSC 07/04 Q1019 NOSIG
  FT  230500  2306/2412 33003KT CAVOK
              PROB30 TEMPO 2306/2307 4000 BR
              BECMG 2408/2411 23011KT


  AIRPORTLIST ENDED
```

[NOTAM]

LIDO-NOTAM-BULLETIN INCLUDES NOTAM, COMP NOTAM AND AIP-REGULATION
VALID: 2603230905 - 2603231340 STD(EOBT)+TRIP+ALTN+3HRS
FIN 1009 /23MAR OFP-NR: 1
ROUTE: LFPG - EBBR ALTN: EBLG
N0424F240 NURMO6G NURMO DCT CMB Z373 ARVOL ARVOL9A

==========
DEPARTURE AIRPORT - DETAILED INFO
==========

LFPG/CDG CHARLES-DE-GAULLE

++++++++++++++++++++++++++++ AIRPORT ++++++++++++++++++++++++++++++

A1611/26
AIRAC AIP SUP 019/26 : PHASE 1 **ACTIVATED**
A0872/26
TRIGGER NOTAM - AIRAC AIP SUP 019/26 :
RESTRICTIONS ON USE OF **AD** PARIS CHARLES DE GAULLE - REHABILITATION AND CLOSURE OF PART OF **TAXIWAYS** F AND E.
THE DATES OF PHASES ARE CONFIRMED BY NOTAM.
THIS AIP SUP IS **AVBL** AT WWW.SIA.AVIATION-CIVILE.GOUV.FR
A1529/26
TAXIWAY A4 CLOSED (AREAS Q).
A1563/26
TWY C CLOSED BTN **TWY C2** AND UT1 EXCLUDED, **TWY** BD4 **CLOSED**.
A0255/26
REF :
AD2 LFPG STAR **RWY** EAST RNAV BIBAX LUKIP
AD2 LFPG STAR **RWY** EAST RNAV KEPER ROMGO
AD2 LFPG STAR **RWY** WEST RNAV BIBAX LUKIP 01
AD2 LFPG STAR **RWY** WEST RNAV BIBAX LUKIP H
AD2 LFPG STAR **RWY** WEST RNAV KEPER ROMGO
READ :
MSA BANOX 2700FT,
MSA MOBRO 2400FT,
MSA MOPAR 2400FT,
READ :
MOCA HLDG BANOX 2700FT,
MOCA HLDG BIBAX 1900FT,
MOCA HLDG LUKIP 2000FT,
MOCA HLDG MOPAR 2200FT,
MOCA HLDG ROMGO 2700FT,
MOCA HLDG ROU 2400FT.
A0991/26
ADDITION TO AIP AD2.21.2.2.1 DEP OPERATIONAL PROCEDURES : REACHING 3000FT (ABOVE AERODROME LEVEL), AFTER NADP1, CONTINUE ACCELERATION UP TO 250KT MAXIMUM MAINTAINING A POSITIVE CLIMB GRADIENT.

++++++++++++++++++++++++++++ STAR ++++++++++++++++++++++++++++++

A1610/26
STAR RNAV ENORI 9J **RWY 26L** 26R 27L 27R **NOT AVBL**.

==========
DESTINATION AIRPORT - DETAILED INFO
==========

EBBR/BRU BRUSSELS NATL

++++++++++++++++++++++++++++ AIRPORT ++++++++++++++++++++++++++++++

E0033/26 VALID: 23-MAR-26 0900 - 23-MAR-26 1300
BRUSSELS **DVOR/DME** BUB 114.6MHZ CH93X **U/S**. DO NOT USE, FALSE INDICATIONS POSSIBLE.
A0846/26
MOBILE CRANE ERECTED 156082N 175450E, MAX 184 AGL/297 AMSL. ICAO DAY MARKING INSTALLED
A0841/26
MOV OBST UP TO 20FT AS FM 105M NORTH OF **RWY 07L/25R** AXIS ABM **ILS GP RWY 25R** EXC IN **CAT** II/III OPS. ICAO MARKING **AVBL**
A0842/26
UNSERVICEABLILITY MARKERS UP TO 3FT AND FIX OBST UP TO 13FT AS FM 105M NORTH OF **RWY 07L/25R** AXIS ABM **ILS GP RWY 25R**. ICAO DAY AND NIGHT MARKED WORKAREA
A0688/26
TRIGGER NOTAM. SUP 014/2026 WEF 23 MAR 2026. EBBR **ILS RWY 25R** UNAVAILABLE H24 DUE TO WORKS.
A0843/26
ACFT STAND 162: PRE-CONDITIONED AIR (PCA) **NOT AVBL**. APU MAY BE USED
A0828/26
NO EDGE LIGHTS AND SIGNS **AVAILABLE** ON INT **TWY** INN-5 AND INN-6
A0810/26
MOV OBST AS FM 230M SOUTH OF **RWY 07L/25R** AXIS ABM INT **TWY** INN-5 AND INN-6. MAX 40FT AGL. ICAO DAY AND NIGHT MARKED WORK AREA
A0811/26
ADAPTED STANDARD PUSH-BACK PROCEDURE ACFT STAND 164-170: PUSH ON **TWY** INN-5, NOSE FACING WEST. FOR STAND 170 PUSH ON PUSH LINE, NO FURTHER THAN NOSE WHEEL LIMIT LINE
A0809/26
TWY M, INN-5 EAST OF ACFT STAND 172, INN-6 AND INT BTN THESE **TWY CLSD** DUE TO **WIP**
A0755/26
FIXED CRANE ERECTED 505333.64N 0043048.68E AT 2263M FM ARP (414M FM **RWY** CL) BRG 116DEG, MAX 283FT AMSL /92FT AGL. ICAO DAY AND NIGHT MARKINGS INSTALLED
D0012/26
DAILY 0800-1600
IAP RNP RWY07L LNAV/VNAV INCREASED OCA **CAT** A 456FT **CAT** B 466FT **CAT** C 475FT **CAT** D 485FT.

++++++++++++++++++++++++++++ RUNWAY ++++++++++++++++++++++++++++++

A0840/26
RWY 25R RESA REDUCED TO LEN OF 300M DUE MOV OBST UP TO MAX 13FT AGL IN FRONT OF **ILS LOC** ANTENNA. ICAO MARKING **AVBL**
A0752/26
RWY 01 ALS FIRST ONE THIRD **U/S**

++++++++++++++++++++++ APPROACH PROCEDURES ++++++++++++++++++++++++

A0669/26
RWY 25R ILS U/S DUE TO MAINT. DO NOT USE. FALSE INDICATIONS POSSIBLE. NO IDENT CODE RADIATED
D0575/25
IAP **VOR RWY 07L NOT AVBL**

==========
DESTINATION ALTERNATE AIRPORT(S)
==========

EBLG/LGG LIEGE

NIL

==========
EXTENDED AREA AROUND DEPARTURE
==========

LFFF FRANCE FIR/UIR

++++++++++++++++++++++++++++ FIR/UIR +++++++++++++++++++++++++++++

P1035/26
WINDTURBINE E6007-14 LIGHTS **U/S**
RDL 097/8.1NM LFOB BEAUVAIS TILLE
- PSN : 492613N 0021908E
- ELEV : 725FT
- HGT : 410FT
P1024/26
WINDTURBINE NR E6011-2 LIGHTING **U/S** :
- PSN : 492941N 0022734E
- ELEV : 890FT
- HEIGHT : 414FT
F0450/26
0800-1700
RISK OF GNSS JAMMING :
- DISRUPTION OF THE SIGNAL RECEIVED BY GPS RECEIVERS WI THE 'MILLAU' REGION
- VOLUMES OF IMPACT CENTRED ON PSN 434952N 0024756E :
248NM AT FL400
197NM AT FL250
153NM AT FL150
125NM AT FL100
080NM AT 4000FT
- INFO **AVBL** WITH :
'MARINA' ('MONT DE MARSAN' CONTROL CENTRE) 143.550MHZ / 317.500MHZ 'RAMBERT' ('LYON MONT VERDUN' CONTROL CENTRE) 143.550MHZ / 317.500MHZ 'RAKI' ('CINQ MARS LA PILE' CONTROL CENTRE) 143.550MHZ / 317.500MHZ - IF GPS DISRUPTIONS ARE OBSERVED, REPORT INFORMATION TO THE RELEVANT ATS.

F0489/26

FRENCH AIR CARRIERS AND CAPTAINS OF AIRCRAFT IN CHARGE OF AIR SERVICES OPERATED BY CARRIERS HOLDING AN OPERATING LICENSE ISSUED BY FRANCE, WHETHER THEY ARE CONTRACTUAL CARRIERS AND/OR OPERATING CARRIERS, OR PERFORMING AIR SERVICES THROUGH A WET LEASE OR A CODESHARE AGREEMENT AS WELL AS FOR ANY FLIGHT MADE WITH AN AIRCRAFT REGISTERED IN FRANCE ARE REQUESTED NOT TO PENETRATE INTO THE AIRSPACE OF OMAN (FIR MUSCAT (OOMM)), EXCEPT :
- MAINTAINING ALL TIMES A FLIGHT LEVEL ABOVE OR EQUAL TO FL320, FOR ROUTES LOCATED SOUTH OF THE SEGMENTS DEFINED BY THE FOLLOWING REPORTING POINTS, RESPECTING THE SEQUENCE BELOW :
DANOM 225454N450509E
KEDON 202516N555850E
VELOD 234617N573430E
THE AIR OPERATOR MUST CARRY OUT A ROBUST RISK ASSESSMENT TO ENSURE THAT THE FLIGHT CAN BE CONDUCTED UNDER SATISFACTORY SAFETY AND SECURITY CONDITIONS BEFORE ENTERING THIS AREA.

F0488/26

FRENCH AIR CARRIERS AND CAPTAINS OF AIRCRAFT IN CHARGE OF AIR SERVICES OPERATED BY CARRIERS HOLDING AN OPERATING LICENSE ISSUED BY FRANCE, WHETHER THEY ARE CONTRACTUAL CARRIERS AND/OR OPERATING CARRIERS, OR PERFORMING AIR SERVICES THROUGH A WET LEASE OR A CODESHARE AGREEMENT AS WELL AS FOR ANY FLIGHT MADE WITH AN AIRCRAFT REGISTERED IN FRANCE ARE REQUESTED NOT TO PENETRATE INTO THE AIRSPACE OF SAUDI ARABIA (FIR JEDDAH (OEJD)), EXCEPT
- FOR THE USE OF JEDDAH AERODROME (OEJN) AND TABUK AERODROME (OETB). - FOR ROUTES ON WHICH A FLIGHT LEVEL ABOVE OR EQUAL TO FL320 IS REQUESTED TO BE MAINTAIN AT ALL TIMES AND ARE LOCATED WEST OF THE SEGMENTS DEFINED BY THE FOLLOWING REPORTING POINTS, RESPECTING THE SEQUENCE BELOW :
OBSOT 295451N373455E
DANOM 225454N450509E
KEDON 202516N555850E
- FOR THE USE OF YENBO AERODROME (OEYN) AND TAIF AERODROME (OETF) AS ALTERNATE ONLY.
THE AIR OPERATOR MUST CARRY OUT A ROBUST RISK ASSESSMENT TO ENSURE THAT THE FLIGHT CAN BE CONDUCTED UNDER SATISFACTORY SAFETY AND SECURITY CONDITIONS BEFORE ENTERING THIS AREA AND BEFORE OPERATING FLIGHTS TO JEDDAH AIRPORT (OEJN).
THIS NOTAM SUPERSEDES THE RESTRICTIONS CONCERNING SAUDI ARABIA AIRSPACE (FIR JEDDAH (OEJD)) ISSUED IN PARAGRAPH 3.13 SAUDI ARABIA OF THE AIC NR 02/26 CURRENTLY IN EFFECT.

F0487/26

FRENCH AIR CARRIERS AND CAPTAINS OF AIRCRAFT IN CHARGE OF AIR SERVICES OPERATED BY CARRIERS HOLDING AN OPERATING LICENSE ISSUED BY FRANCE, WHETHER THEY ARE CONTRACTUAL CARRIERS AND/OR OPERATING CARRIERS, OR PERFORMING AIR SERVICES THROUGH A WET LEASE OR A CODESHARE AGREEMENT AS WELL AS FOR ANY FLIGHT MADE WITH AN AIRCRAFT REGISTERED IN FRANCE ARE REQUESTED NOT TO PENETRATE INTO THE ENTIRE AIRSPACE OF JORDAN (FIR AMMAN (OJAC

F0486/26

FRENCH AIR CARRIERS AND CAPTAINS OF AIRCRAFT IN CHARGE OF AIR SERVICES OPERATED BY CARRIERS HOLDING AN OPERATING LICENSE ISSUED BY FRANCE, WHETHER THEY ARE CONTRACTUAL CARRIERS AND/OR OPERATING CARRIERS, OR PERFORMING AIR SERVICES THROUGH A WET LEASE OR A CODESHARE AGREEMENT AS WELL AS FOR ANY FLIGHT MADE WITH AN AIRCRAFT REGISTERED IN FRANCE ARE REQUESTED NOT TO PENETRATE INTO THE ENTIRE AIRSPACE OF BAHRAIN (FIR BAHRAIN (OBBB

F0485/26
FRENCH AIR CARRIERS AND CAPTAINS OF AIRCRAFT IN CHARGE OF AIR SERVICES OPERATED BY CARRIERS HOLDING AN OPERATING LICENSE ISSUED BY FRANCE, WHETHER THEY ARE CONTRACTUAL CARRIERS AND/OR OPERATING CARRIERS, OR PERFORMING AIR SERVICES THROUGH A WET LEASE OR A CODESHARE AGREEMENT AS WELL AS FOR ANY FLIGHT MADE WITH AN AIRCRAFT REGISTERED IN FRANCE ARE REQUESTED NOT TO PENETRATE INTO THE ENTIRE AIRSPACE OF KUWAIT (FIR KUWAIT (OKAC)).

F0484/26
FRENCH AIR CARRIERS AND CAPTAINS OF AIRCRAFT IN CHARGE OF AIR SERVICES OPERATED BY CARRIERS HOLDING AN OPERATING LICENSE ISSUED BY FRANCE, WHETHER THEY ARE CONTRACTUAL CARRIERS AND/OR OPERATING CARRIERS, OR PERFORMING AIR SERVICES THROUGH A WET LEASE OR A CODESHARE AGREEMENT AS WELL AS FOR ANY FLIGHT MADE WITH AN AIRCRAFT REGISTERED IN FRANCE ARE REQUESTED NOT TO PENETRATE INTO THE ENTIRE AIRSPACE OF QATAR (FIR DOHA (OTDF)).

F0483/26
FRENCH AIR CARRIERS AND CAPTAINS OF AIRCRAFT IN CHARGE OF AIR SERVICES OPERATED BY CARRIERS HOLDING AN OPERATING LICENSE ISSUED BY FRANCE, WHETHER THEY ARE CONTRACTUAL CARRIERS AND/OR OPERATING CARRIERS, OR PERFORMING AIR SERVICES THROUGH A WET LEASE OR A CODESHARE AGREEMENT AS WELL AS FOR ANY FLIGHT MADE WITH AN AIRCRAFT REGISTERED IN FRANCE ARE REQUESTED NOT TO PENETRATE INTO THE ENTIRE AIRSPACE OF LEBANON (FIR BEIRUT (OLBB)).

F0482/26
FRENCH AIR CARRIERS AND CAPTAINS OF AIRCRAFT IN CHARGE OF AIR SERVICES OPERATED BY CARRIERS HOLDING AN OPERATING LICENSE ISSUED BY FRANCE, WHETHER THEY ARE CONTRACTUAL CARRIERS AND/OR OPERATING CARRIERS, OR PERFORMING AIR SERVICES THROUGH A WET LEASE OR A CODESHARE AGREEMENT AS WELL AS FOR ANY FLIGHT MADE WITH AN AIRCRAFT REGISTERED IN FRANCE ARE REQUESTED NOT TO PENETRATE INTO THE ENTIRE AIRSPACE OF UNITED ARAB EMIRATES (FIR EMIRATES (OMAE

F0481/26
FRENCH AIR CARRIERS AND CAPTAINS OF AIRCRAFT IN CHARGE OF AIR SERVICES OPERATED BY CARRIERS HOLDING AN OPERATING LICENSE ISSUED BY FRANCE, WHETHER THEY ARE CONTRACTUAL CARRIERS AND/OR OPERATING CARRIERS, OR PERFORMING AIR SERVICES THROUGH A WET LEASE OR A CODESHARE AGREEMENT AS WELL AS FOR ANY FLIGHT MADE WITH AN AIRCRAFT REGISTERED IN FRANCE ARE REQUESTED NOT TO PENETRATE INTO THE ENTIRE AIRSPACE OF IRAQ (FIR BAGHDAD (ORBB)).
THIS NOTAM SUPERSEDES THE RESTRICTIONS CONCERNING IRAQ AIRSPACE (FIR BAGHDAD (ORBB)) ISSUED IN PARAGRAPH 3.2 IRAQ OF THE AIC NR 02/26 CURRENTLY IN EFFECT.

F0480/26
FRENCH AIR CARRIERS AND CAPTAINS OF AIRCRAFT IN CHARGE OF AIR SERVICES OPERATED BY CARRIERS HOLDING AN OPERATING LICENSE ISSUED BY FRANCE, WHETHER THEY ARE CONTRACTUAL CARRIERS AND/OR OPERATING CARRIERS, OR PERFORMING AIR SERVICES THROUGH A WET LEASE OR A CODESHARE AGREEMENT AS WELL AS FOR ANY FLIGHT MADE WITH AN AIRCRAFT REGISTERED IN FRANCE ARE REQUESTED NOT TO PENETRATE INTO THE ENTIRE AIRSPACE OF IRAN (FIR TEHRAN (OIIX)).
THIS NOTAM SUPERSEDES THE RESTRICTIONS CONCERNING IRAN AIRSPACE (FIR TEHRAN (OIIX)) ISSUED IN PARAGRAPH 3.14 IRAN OF THE AIC NR 02/26 CURRENTLY IN EFFECT.

P1006/26
OBSTACLE NR E4503 LGT **U/S** (2 WIND TURBINES OUT OF 5)
RDL 119/10.6NM LFOC ARP
WIND TURBINES : E4503-4 AND E4503-5
MEAN PSN : 475815N 0013618E
HGT : 410FT AGL
ELEV : 814FT AMSL.

P0993/26
WINDFARM NR E1008 (RDL 323/12NM LFQB) LGT **U/S** (8 WINDTURBINES OUT OF 47) :
- MEAN PSN : 482901.30N 0034958.69E
- MAX HGT : 492FT
- MAX ELEV : 807FT.

P0990/26
OBST (PYLON) NR 10002 LIGHTING **U/S** - RDL 184/5.1NM LFFR ARP :
- PSN : 475856N 0042409E
- HEIGHT : 738FT
- ELEVATION : 1850FT.

P0952/26
OBST MAST NR 80137 LIGHTING **U/S** :
- PSN : 495429N 0020441E
- HEIGHT : 403FT
- ELEVATION : 784FT.

P0941/26
OBSTACLES E2815-2 AND E2815-4 LIGHTS **U/S** (2 WINDTURBINES OUT OF 6) - RDL010/8.15NM LFOR ARP :
-PSN : 481929N 0012912E
-HEIGHT : 410FT
-ELEV : 899FT.

P0929/26
WIND TURBINE E5144-8 (RDL271/4.3NM ARP LFQK) LGT **U/S** :
- AVG PSN : 485423.48N 0041441.58E
- MAX HGT : 588FT
- MAX ELEV : 1006FT.

P0911/26
WINDTURBINE E0207-2 LIGHTS **U/S** :
-PSN : 494520N 0032349E
-ELEV : 741FT
-HEIGHT : 410FT.

P0908/26
WINDTURBINE E280D-12 LGT **U/S** - RDL125/13NM LFOR :
-PSN : 482007.52N 0014727.36E
-HGT : 388FT
-ELEV : 877FT.

P0905/26
OBSTACLE NR E2814-6 LIGHTS **U/S** :
-RDL326/33.44NM LFOZ
RDL131/6.3NM LFOR
-PSN : 482325N 0013834E
-HEIGHT : 410FT
-ELEV : 912FT.

P0902/26
WIND TURBINE E1001-10 LIGHTING **U/S** - RDL 218/11.2NM LFOK ARP :
- PSN : 483743.76N 0040153.49E
- HEIGHT : 413FT
- ELEVATION : 876FT.

P0892/26
WIND TURBINE NR E5208-8 LIGHTS **U/S** - RDL239/7.3NM LFFJ ARP :
-PSN : 481921.37N 0045906.56E
-HEIGHT : 397FT
-ELEV : 1588FT.

P0812/26
OBSTACLE NR 76168 LGT **U/S**
RDL 172/11.51 NM LFAE ARP
PSN 495237N 0012757E
HGT 404FT AGL
ELEV 833FT AMSL

P0785/26
OBSTACLE NR E280D-7 LIGHTING **U/S** (1 WINDTURBINE OUT OF 29) :
- RDL 155/11.74NM LFFL ARP
- PSN : 482011.06N 0014542.41E
- HEIGHT : 388FT
- ELEV : 874FT.

F0377/26
ATS SKED 'METZ NANCY LORRAINE' :
- MON-FRI : 0700-2030
- SAT : ATS NOT PROVIDED
- SUN : 1100-1800
- OTHER SKED : UPON 24HR PPR BY PHONE TO **AD** ADMINISTRATION.

P0681/26
OBST NR E6205 LIGHTING **U/S** - RDL 214/11.3NM ARP LFIS :
- PSN : 504337N 0013420E
- HEIGHT : 541FT
- ELEVATION : 564FT.

F0321/26
RUSSIA AND BELARUS RESTRICTIONS :
1- ALL AIRCRAFT REGISTERED IN RUSSIA OR OPERATED BY RUSSIAN AIR CARRIERS, INCLUDING AS A MARKETING CARRIER IN CODE-SHARING OR BLOCKED-SPACE ARRANGEMENTS OR OWNED, CHARTERED OR OPERATED BY A RUSSIAN NATURAL OR LEGAL PERSON, ENTITY OR BODY ARE PROHIBITED TO LAND IN, TAKE OFF FROM OR OVERFLY THE FRENCH SOVEREIGN AIRSPACE EXCEPT IN CASE OF EMERGENCY LANDING OR EMERGENCY OVERFLIGHT AND EXCEPT FOR FLIGHTS HOLDING A PERMISSION DELIVERED IN ACCORDANCE WITH THE APPROPRIATE EU REGULATION BY THE FRENCH AUTHORITIES
2- ALL AIRCRAFT OPERATED BY BELARUSIAN AIR CARRIERS, INCLUDING AS A MARKETING CARRIER IN CODE-SHARING OR BLOCKED-SPACE ARRANGEMENTS, ARE PROHIBITED TO LAND IN, TAKE OFF FROM OR OVERFLY THE FRENCH SOVEREIGN AIRSPACE
EXCEPT IN CASE OF EMERGENCY LANDING OR EMERGENCY OVERFLIGHT AND EXCEPT FOR FLIGHTS HOLDING A PERMISSION DELIVERED IN ACCORDANCE WITH THE APPROPRIATE EU REGULATION BY THE FRENCH AUTHORITIES
3- IT SHALL BE PROHIBITED TO PARTICIPATE, KNOWINGLY AND INTENTIONALLY, IN ACTIVITIES THE OBJECT OR EFFECT OF WHICH IS TO CIRCUMVENT THESE PROHIBITIONS.

P0645/26
MODIFICATION COORDONNEES TOUR 53014 A PRE-EN-PAIL-ST-SAMSON
RDL 271/10.33NM ARP LFOF ALENCON-VALFRAMBERT
PSN: 482657N 0000903.49W
HAUT: 201FT
ALT AU SOMMET: 1546FT
BALISAGE: NIL
REF AIP FRANCE DATASET ENR 5.4

P0599/26
OBSTACLE NR 45011 LIGHTING **U/S** - RDL 262/1.5NM HSPS ARP :
- PSN : 475605N 0015023E
- HEIGHT : 240FT
- ELEVATION : 663FT.

P0593/26
OBST NR 41061 LIGHTING **U/S** - RDL 324/16.1NM LFOQ ARP :
- PSN : 475345N 0005823E
- HEIGHT : 391FT
- ELEVATION : 855FT.

P0555/26
WINDTURBINE E0214-11 LIGHTING **U/S** :
- PSN : 495556N 0034134E
- HEIGHT : 493FT
- ELEVATION : 992FT.

P0366/26
WINDTURBINE E8092-6 LIGHTING **U/S** :
PSN : 495023N 0024637E
ELEV : 787FT
HEIGHT : 492FT.
P0359/26
WINDTURBINE E760H-5 LGT **U/S** RDL 002/9.75NM LFFY:
PSN: 492805.54N 0013845.32E
HGT 410FT
ELEV 1148FT
P0069/26
OBST NR 59096 LIGHTING **U/S** - RDL 007/10NM LFQT ARP :
- PSN : 504657.79N 0024016.17E
- HEIGHT : 690FT
- ELEVATION : 1250FT.
P0045/26
OBST NR 18005 (PYLON) LGT **U/S** - RDL140.5/14.7NM LFEH ARP:
- PSN: 471726.35N 0023726.78E
- HGT: 758FT
- ELEV: 2100FT
P0016/26
WINDFARM E7201 AT 'JUILLE' (72) : WINTURBINES E7201-5 E7201-6
LGT **U/S** RDL175/11.6NM LFOF
E7201-5 : 481514.92N 0000810.33E
E7201-6 : 481506.39N 0000752.95E
HGT : 476FT
ELEV : 768FT
F1774/25
VFR PROHIBITED ABOVE FL115 WITHIN SECTORS CONTROLLED BY PARIS
CTL EXC FOR SPECIAL ACT AUTHORIZED BY PARIS CTL.
F1665/25
EUROCONTROL LOGON LIST FUNCTIONALITY SET UP FOR THE EN-ROUTE
CENTRES OF BORDEAUX ACC, BREST ACC, MARSEILLE ACC, PARIS ACC AND
REIMS ACC.
ONLY AIRCRAFT VALIDATED BY EUROCONTROL IN THE LOGON LIST CAN
CONNECT TO THE CPDLC SERVICES OF THESE ACC.
F1418/25
DUE TO A TECHNICAL UPDATE,SOME PHONE NUMBERS OF THE
'CINQ-MARS-LA-PILE' CTL AND DETECTION CENTER '(CDC)' ARE CHANGING.
ONLY THE FLW PHONE NUMBERS HAVE TO BE USED :
'CSCAM': +33 2.45.34.16.02 (862 927 1602)
'BIV': +33 2.45.34.16.03 (862 927 1603)
'MC': +33 2.45.34.16.05 (862 927 1605) AND +33 2.45.34.16.06 (862
927 1606)
'TPO': +33 2.45.34.16.09 (862 927 1609)
'OMC': +33 2.45.34.16.10 (862 927 1610)
'FA': +33 2.45.34.16.11 (862 927 1611)
'OPS MANAGER' : +33 2.45.34.14.00 (862 927 1400)
'CDC CINQ MARS LA PILE POC' : +33 2 45 34 28 63
H0214/25
CREATION OF 'HELISTATION AIR TOURAINE'
AT NEUVY LE ROY
PSN : 473450N 0003618E
ALTITUDE : 310FT
AXIS : 070/250
FATO = TLOF (3.6T) : 20 X 20M
LGT : NIL
REF **AD** 1.3

F0627/25
APPLICATION OF THE NEW EUROPEAN REGULATION IR SERA 2024/404 IN FORCE
ON MAY 1ST, 2025 WITH THE INTRODUCTION OF POINT SERA.14083 RELATING TO PROCEDURES IN CASE OF RADIO COMMUNICATION FAILURE.
MODIFICATION OF RADIO FAILURE PROCEDURE : INTRODUCTION OF THE NEW EMERGENCY CODE 7601 AND MODIFICATION OF THE 7-MINUTE RULE TO 20 MINUTES.
REF AIP ENR1.1

F0311/25
TRIGGER NOTAM - AIRAC AIP SUP 024/25.
CREATION OF 5 TRANSPONDER MANDATORY ZONES (TMZ) ASSOCIATED TO TOURS VAL DE LOIRE **AD** (LFOT).
THIS AIP SUP IS **AVBL** AT WWW.SIA.AVIATION-CIVILE.GOUV.FR

F0441/25
TRIGGER NOTAM - AIP SUP 037/25
CREATION OF EXPERIMENTAL TRANSIT CORRIDORS FOR OVERFLIGHTS OF THE 'PARC NATIONAL DE FORETS NR 021'
THIS AIP SUP IS **AVBL** AT WWW.SIA.AVIATION-CIVILE.GOUV.FR

++++++++++++++++++++++++++++ WAYPOINT ++++++++++++++++++++++++++++

F0251/26
TRIGGER NOTAM - AIRAC AIP SUP 016/26 :
AMENDMENT OF THE AIP FRANCE SECTION ENR 6.2 MAP WITH THE IMPLEMENTATION OF THE FRANCE FRA NORD CELL (LFFRAN).
THIS AIP SUP IS **AVBL** AT WWW.SIA.AVIATION-CIVILE.GOUV.FR

F0244/26
FRANCE FREE ROUTE AIRSPACE - NORTH EAST CELL (LFFRANE) - SIGNIFICANT POINT BELOW FRA FUNCTION MODIFIED.
READ :
-ENORI=FRA(AI): LFFRANE, LFPG, FL195-660
-REF AIP ENR 4.4

F0117/26
VOR 'BNE' 113.800MHZ **U/S** DUE TO FAILURE

F1805/25
FRANCE FREE ROUTE AIRSPACE - NORTH EAST CELL (LFFRANE) - SIGNIFICANT POINT BELOW FRA FUNCTIONS MODIFIED.
READ :
- OKRIX= FRA(ID) : LFFRANE, LFLA, LFOK, LFQB, LFQA, LFSI, LFOA, LFQG, LFLD, LFOJ, LFOZ, LFLC, LFLV, FL195-660
- REF AIP ENR 4.4

+++++++++++++++++++++++ RESTRICTED AIRSPACE +++++++++++++++++++++++

R0907/26
LFCBA-16B **ACTIVATED**.
F) FL065 G) FL115

R0446/26
TRIGGER NOTAM - AIRAC AIP SUP 023/26 :
CREATION OF TWO TEMPORARY RESERVED AREAS (TRA) IN UIR, TRA90NL AND TRA90NH, AND ASSOCIATED FBZ.
THIS AIP SUP IS **AVBL** AT WWW.SIA.AVIATION-CIVILE.GOUV.FR
F) FL195 G) FL335

R0566/26

TEMPORARY RESTRICTED AREA (ZRT) 'ZRT SOMME 1' :
-DESCRIPTION :
-UNMANNED ACFT FLIGHTS, BEYOND VISUAL LINE OF SIGHT,
-ZRT MAY BE **ACTIVATED** H24 WITH A 24HR PN,
-ZRT CENTRE : RDL195/17NM LFAT ARP
1-LATERAL LIMITS :
500803N 0012616E
502318N 0013347E
502136N 0013816E
500736N 0013008E
500803N 0012616E
2-VERTICAL LIMITS :
SR-30 / SS+30 : SFC / 500FT ASFC
SS+30 / SR-30 : SFC / 1500FT AMSL
3-STATUS :
TEMPORARY RESTRICTED AREA (ZRT) REPLACES THE OVERLAPPING AIRSPACE PARTS, EXCEPT RESTRICTED AREAS LF-R400E 'DEP AULT' AND LF-R400D 'DEP HOURDEL' (SUP AIP 215/25).
4-SERVICES PROVIDED :
FLIGHT INFORMATION AND ALERT ARE PROVIDED BY 'LILLE INFO'.
5-OAT/GAT ENTRY CONDITIONS :
COMPULSORY AREA AVOIDANCE DURING ZRT ACTIVITY EXCEPT FOR :
-ACFT INVOLVED IN THE EXERCISE,
-AERIAL-WORK COMPANIES ACFT WITH A SPECIAL PERMISSION FROM FLIGHT HEIGHT RESTRICTIONS FOR ESSENTIAL OPERATIONS AFTER COORDINATION WITH THE RELEVANT AUTHORITY
-ACFT ON MIL, CUSTOMS, POLICE, SEARCH AND RESCUE, FIREFIGHTING, MEDICAL TRANSPORT OPERATIONS WHEN FORCED TO ENTER THE AREA AFTER COORDINATION WITH THE RELEVANT AUTHORITY.
6-RELEVANT AUTHORITY :
-'COMFAG'
-PHONE : +33 630 089 289
PHONE : +33 145 373 137 / +33 145 373 139
7-INFO :
ACTUAL TIMES OF ACTIVITY ANNOUNCED ON 'LILLE INFO' 132.540MHZ
F) SFC G) 1500FT AMSL

R0564/26
TEMPORARY RESTRICTED AREA (ZRT) 'ZRT SOMME 2' :
-DESCRIPTION :
-UNMANNED ACFT FLIGHTS, BEYOND VISUAL LINE OF SIGHT,
-ZRT MAY BE **ACTIVATED** H24 WITH A 24HR PN,
-ZRT CENTRE : RDL302/8.5NM LFOI ARP
1-LATERAL LIMITS :
501654N 0013537E
501457N 0014121E
501012N 0014150E
501040N 0013207E
501654N 0013537E
2-VERTICAL LIMITS :
SR-30 / SS+30 : 500FT ASFC
SS+30 / SR-30 : 1500FT AMSL
3-STATUS :
TEMPORARY RESTRICTED AREA (ZRT) REPLACES THE OVERLAPPING AIRSPACE PARTS, EXCEPT RESTRICTED AREA LF-R400D 'DEP HOURDEL'.
4-SERVICES PROVIDED :
FLIGHT INFORMATION AND ALERT ARE PROVIDED BY 'LILLE INFO'.
5-OAT/GAT ENTRY CONDITIONS :
COMPULSORY AREA AVOIDANCE DURING ZRT ACTIVITY EXCEPT FOR :
-ACFT INVOLVED IN THE EXERCISE,
-AERIAL-WORK COMPANIES ACFT WITH A SPECIAL PERMISSION FROM FLIGHT HEIGHT RESTRICTIONS FOR ESSENTIAL OPERATIONS AFTER COORDINATION WITH THE RELEVANT AUTHORITY,
-ACFT ON MIL, CUSTOMS, POLICE, SEARCH AND RESCUE, FIREFIGHTING, MEDICAL TRANSPORT OPERATIONS WHEN FORCED TO ENTER THE AREA AFTER COORDINATION WITH THE RELEVANT AUTHORITY.
6-RELEVANT AUTHORITY :
-'COMFAG'
-PHONE : +33 630 089 289
: +33 145 373 137 / +33 145 373 139
7-INFO :
ACTUAL TIMES OF ACTIVITY ANNOUNCED ON 'LILLE INFO' 132.540MHZ
F) SFC G) 1500FT AMSL

R0704/26
MAR 12 13 16-20 23-27 30 31 APR 01-03 SR-SS
RESTRICTED AREA LF-R602 'ABLIS' **ACTIVATED**
ACTUAL ACTIVITY ANNOUNCED ON 'PARIS INFO' 126.100MHZ OR 129.625MHZ. F) SFC G) 2500FT AMSL

R0441/26
TRIGGER NOTAM - AIP SUP 018/26 :
CREATION OF A TEMPORARY RESTRICTED 'ZRT DRONE COURTALAIN' DUE TO OUT OF SIGHT UNMANNED ACFT FLIGHTS IN 'CENTRE' REGION ACTIVABLE BY NOTAM WITH 48HR NOTICE.
THIS AIP SUP IS **AVBL** AT WWW.SIA.AVIATION-CIVILE.GOUV.FR
F) SFC G) 500FT AGL

R0445/26
TRIGGER NOTAM - AIP SUP 022/26 :
CREATION OF A TEMPORARY RESTRICTED AREA 'ZRT CUIRASSIER' IN THE ORLEANS BRICY REGION.
THE ZRT CAN BE **ACTIVATED** BY NOTAM WITH NOTICE OF 48HR.
THIS AIP SUP IS **AVBL** AT WWW.SIA.AVIATION-CIVILE.GOUV.FR
F) SFC G) 2100FT AMSL

R0444/26
TRIGGER NOTAM - AIP SUP 021/26 :
CREATION OF A TEMPORARY RESTRICTED AREA 'ZRT ARGENTAN' FOR UNMANNED AIRCRAFTS SURVEYS, OPERATING OUT OF SIGHT, IN THE ARGENTAN AREA (A88 FREEWAY).
ZRT ACTIVABLE BY NOTAM WITH 10 DAYS NOTICE.
THIS AIP SUP IS **AVBL** AT WWW.SIA.AVIATION-CIVILE.GOUV.FR
F) SFC G) 400FT AGL

R0034/26
NO-FLY ZONE NR660 'CLAIRVAUX' DETENTION CENTRE **WITHDRAWN**
PSN : 480900N 0044700E
F) SFC G) 3300FT AGL

W2675/25
MODEL FLYING ACTIVITY N8071 SAINT FLORENTIN CHEU AERODROME **WITHDRAWN**
PSN: 475920N 0034605E
REF AIP FRANCE ENR 5.5
F) SFC G) 500FT AGL

W2676/25
MODEL FLYING ACTIVITY N8212 SOUCY (89) **WITHDRAWN**
PSN: 481421N 0031725E
REF AIP FRANCE ENR 5.5
F) SFC G) 1300FT AMSL

W2677/25
MODEL FLYING ACTIVITY N8542 VONCQ (08) **WITHDRAWN**
PSN: 492739N 0044003E
REF AIP FRANCE ENR 5.5
F) SFC G) 800FT AMSL

R3088/25
TRIGGER NOTAM - AIP SUP 205/25 :
SPECIAL AVIATION SECURITY MEASURES ABOVE THE PARIS REGION REQUIRING THE CREATION OF 2 TEMPORARY RESTRICTED AREAS ('ZRT PO ALPHA' AND 'ZRT PO BRAVO').
THE 'ZRT' CAN BE **ACTIVATED** BY NOTAM WITH 72HR PRIOR NOTICE.
THIS AIP SUP IS **AVBL** AT WWW.SIA.AVIATION-CIVILE.GOUV.FR
F) FL205 G) FL225

R3164/25
TRIGGER NOTAM - AIP SUP 212/25 :
CREATION OF A TEMPORARY RESTRICTED AREA (ZRT HIRSON) FOR DAY AND NIGHT OUT-OF-SIGHT UNMANNED FLIGHTS, IN THE HAUTS DE FRANCE AREA.
THIS AIP SUP IS **AVBL** AT WWW.SIA.AVIATION-CIVILE.GOUV.FR
F) SFC G) 400FT AGL

R3166/25
TRIGGER NOTAM - AIP SUP 214/25 :
DAILY AND NIGHTLY OUT OF SIGHT UNMANNED ACFT FLIGHTS IN THE 'HAUTS DE FRANCE' AREA REQUIRING THE CREATION OF A TEMPORARY RESTRICTED AREA ('ZRT AIRGHT').
THIS AIP SUP IS **AVBL** AT WWW.SIA.AVIATION-CIVILE.GOUV.FR
F) SFC G) 400FT AGL

R3167/25
TRIGGER NOTAM - AIP SUP 215/25 :
CREATION OF 14 TEMPORARY RESTRICTED AREAS (ZRT) AND 4 TEMPORARY **DANGER** AREAS (ZDT) FOR UNMANNED AIRCRAFT FLYING OUT OF SIGHT OVER THE EASTERN CHANNEL AND THE ENGLISH CHANNEL STRAIT.
THIS AIP SUP IS **AVBL** AT WWW.SIA.AVIATION-CIVILE.GOUV.FR
F) SFC G) 1500FT AMSL

W2579/25
MODEL FLYING ACTIVITY AT 'DAMMARTIN-EN-SERVE' (78)
- RDL 194/10.1NM ARP LFFC
- RDL 291/11.9NM ARP LFPF
- PSN : 485451N 0013740E
- UPPER LIMIT : 1000FT AGL (1400FT AMSL)
- SKED : SR-SS
REF AIP FRANCE ENR 5.5
F) SFC G) 1400FT AMSL

W2578/25
MODEL FLYING ACTIVITY AT 'BARZY-SUR-MARNE' (02)
- RDL 079/7.6NM ARP LFFH :
- PSN : 490525N 0033246E
- SKED : 0800-1800 (SUMMER -1HR)
- BY DAY ONLY
REF AIP FRANCE ENR 5.5
F) SFC G) 400FT AGL

W2571/25
MODEL FLYING ACTIVITY AT 'ELETOT'
- RDL 252/8NM ARP LFOS :
- PSN : 494718N 0002607E
- SKED : SR-SS
- SLOPE FLYING
REF AIP FRANCE ENR 5.5
F) SFC G) 200FT AGL

R2442/25
TUE-THU SR-1400
TEMPORARY RESTRICTED AREA ('ZRT') NAMED 'BASE DREUX SENONCHES' :
UA (DRONE) FLIGHTS ACTIVITY
1/LATERAL LIMITS :
01NM RADIUS CIRCLE CENTERED ON 483842N 0010559E
2/STATUS :
'ZRT' AREA, WHEN **ACTIVE**, REPLACES OVERLAPING AIRSPACE.
3/ PROVIDED SERVICES :
FLIGHT INFORMATION AND ALERT PROVIDED BY SEINE INFO OR PARIS CTL OR LILLE INFO
4/OAT/GAT ENTRY CONDITIONS :
COMPULSORY AREA BYPASS EXC FOR ACFT :
- UNMANNED IMPLEMENTED BY OPERATIONS MANAGER
- CARRYING OUT MIL, CUSTOMS, POLICE, SAR, FIRE FIGHTING, MEDICAL TRANSPORT MISSIONS WHEN FORCED TO ENTER THE 'ZRT' AREA, AFTER COORDINATION WITH OPERATIONS MANAGER - PHONE : +33 7 64 86 92 53
5/ACTUAL ACT **AVBL** WITH :
LILLE INFO : 134.825MHZ
SEINE INFO : 127.815MHZ (DURING SEINE ATS SKED)
6/SPECIAL PROVISIONS :
AEROBATICS ACT NR 6206 'DREUX SENONCHES' **SUSPENDED** WHEN 'ZRT' AREA **ACTIVE**.
F) SFC G) 2600FT AMSL

R2399/25
TEMPO PROHIBITED AREA (ZIT) 'SUIPPES MOURMELON 1' - ANTI DRONE STRUGGLE :
1. LATERAL LIMITS :
SAME AS LF-R175A 'SUIPPES' (REF AIP ENR 5.1)
2. STATUS :
ZIT WHICH COEXISTS WITH OVERLAPPING AIRSPACES, EXCLUDING LF-R503 MOURMELON STAT WHEN **ACTIVATED**.
3. ENTRY CONDITIONS :
- ENTRY PROHIBITED TO ANY UNMANNED ACFT, EXC UNMANNED ACFT PERFORMING MIL, CUSTOMS, POLICE, SEARCH AND RESCUE, FIRE-FIGHTING OR MEDICAL TRANSPORTATION ACT WHEN FORCED TO ENTER.
- EXEMPTION SUBMITTED TO MANAGER AGREEMENT WITH PN 05 DAYS.
4. PROVIDED SERVICES :
SERVICES ARE PROVIDED IN ACCORDANCE WITH AIRSPACES CLASSES WITH WHICH ZIT COEXISTS.
5. AUTHORITY TO CONTACT :
- 51RI / PC TIR
- TEL : +333.26.67.81.00
F) SFC G) 500FT AGL

R2488/25
TEMPO PROHIBITED AREA (ZIT) 'SUIPPES MOURMELON 2' - ANTI DRONE FIGHTS :
1. LATERAL LIMITS :
490752N 0042227E,
0.8NM RADIUS CLOCKWISE ARCUS CENTRED ON 490801N 0042112E,
490810N 0042000E,
490752N 0042227E.
2. STATUS :
ZIT WHICH COEXISTS WITH OVERLAPPING AIRSPACES, EXCLUDING LF-R503 'MOURMELON STAT' WHEN **ACTIVATED**.
3. ENTRY CONDITIONS :
- ENTRY PROHIBITED TO ANY UNMANNED ACFT, EXC UNMANNED ACFT PERFORMING MIL, CUSTOMS, POLICE, SEARCH AND RESCUE, FIRE-FIGHTING OR MEDICAL TRANSPORTATION ACT WHEN FORCED TO ENTER.
- EXEMPTION SUBMITTED TO MANAGER AGREEMENT WITH PN 05 DAYS
4. PROVIDED SERVICES :
SERVICES ARE PROVIDED IN ACCORDANCE WITH AIRSPACES CLASSES WITH WHICH ZIT COEXISTS.
5. AUTHORITY TO CONTACT :
- 51RI / PC TIR
- TEL : +333.26.67.81.00
F) SFC G) 500FT AGL

R2569/25
TEMPO PROHIBITED AREA (ZIT) 'MAILLY' - ANTI DRONE MEASURES :
1. LATERAL LIMITS :
SAME AS LF-R6A (REF AIP ENR 5.1)
2. STATUS :
'ZIT' WHICH COEXISTS WITH OVERLAPPING AIRSPACES
3. ENTRY CONDITIONS :
- ENTRY PROHIBITED TO ANY UNMANNED ACFT, EXC UNMANNED ACFT IN STATE MISSION (DEFENCE, 'GENDARMERIE', POLICE, CUSTOM, RFFS, CIVIL SAFETY AND RESCUE)
- EXEMPTION SUBMITTED TO MANAGER AGREEMENT WITH PN 05 OPENING DAYS
4. PROVIDED SERVICES :
SERVICES ARE PROVIDED IN ACCORDANCE WITH PARTS OF AIRSPACES CLASSE WITH WHICH 'ZIT' COEXISTS
5. AUTHORITY TO CONTACT (MANAGER) :
- CENTAC MAILLY
- TEL : +333 10 10 81 75 OR +333 10 10 82 22 OR +336 72 28 64 93.
F) SFC G) 500FT AGL

R2474/25
TRIGGER NOTAM - AIP SUP 176/25 MODIFIED :
OUT-OF-SIGHT UNMANNED FLIGHTS WITHIN THE SOUTHERN REGION OF 'CHARTRES', REQUIRING THE CREATION OF A TEMPORARY RESTRICTED AREA ('ZRT DRONE').
ZRT ACTIVABLE BY NOTAM WITH A MINIMUM OF 48HR NOTICE.

MODIFICATION :
ADD, IN 'LATERAL LIMITS' ITEM, THE COORDINATES 481902N 0015055E, AT THE END OF THE COORDINATES

THIS AIP SUP IS **AVBL** AT WWW.SIA.AVIATION-CIVILE.GOUV.FR
F) SFC G) 500FT AGL

R2497/25
ZONE LF-R574 A AUVOURS MODIFIED (REF AIP FRANCE ENR 5.1):
HOURS MODIFIED : POSSIBLE ACTIVATION H24
F) SFC G) FL055

R2501/25
TEMPORARY RESTRICTED AREA ('ZRT') 'LF-R-574 C TEMP AUVOURS' FOR DEFENCE ACT, OUT OF VIEW STATE DRONE FLT
ZRT CENTER : RDL 065/7NM LFRM ARP
1 - LATERAL LIMITS :
480023N 0002101E
480023N 0002148E
475917N 0002148E
475917N 0002101E
480023N 0002101E
EXC LF-R574 A AUVOURS WHEN **ACTIVE**
2 - STATUS : TEMPORARY RESTRICTED AREA'LF-R-574 C TEMP AUVOURS' WHEN **ACTIVE**, REPLACES OVERLAPING AIRSPACE PARTS.
3 - PROVIDED SERVICES :
FLIGHT INFORMATION AND ALERT PROVIDED BY USUAL ORGANISMS
4 - OAT/GAT ENTRY CONDITIONS :
COMPULSORY AREA AVOIDANCE DURING ACT EXCEPT FOR :
- ACFT AUTHORISED BY MANAGER
- ACFT ON MIL, CUSTOMS, POLICE, SEARCH AND RESCUE, FIREFIGHTING, MEDICAL TRANSPORT OPERATIONS WHEN FORCED TO ENTER AREA, AFTER COORDINATION WITH MANAGER (+33 2 43 54 62 38 OR +33 2 43 54 62 42). 5 - MANAGER - AUHTORITY TO BE CONSULTED :
2 EME RIMA : +33 2 43 54 62 38 OR +33 2 43 54 62 42
6 - REAL ACT KNOWN BY
- MANAGER : +33 2 43 54 62 38 (ANSWERING DEVICE OUTSIDE OPENING HOURS)
- NANTES INFO : 130.275MHZ
- SEINE INFO : 127.815MHZ
- LE MANS INFO : 125.905MHZ
F) SFC G) FL055

R2339/25
TRIGGER NOTAM - AIP SUP 091/24 MODIFIED :
CREATION OF 94 TEMPORARY RESTRICTED AREAS ('ZRT') AND OF 4
TEMPORARY DANGEROUS AREAS ('ZDT'). THESE AREAS WILL BE **ACTIVATED**
BY NOTAM.

MODIFICATIONS :
1)PAGE 1
RELEVANT AUTHORITIES CONTACT DETAILS DURING OPERATION :
MIL CTL AND REPORTING CENTRE (CRC) OF CINQ-MARS-LA-PILE - PHONE :
+33 2 45 34 15 67
MIL CTL AND REPORTING CENTRE (CRC) OF MONT DE MARSAN : WITHOUT ANY
CHANGE
'EACA ROISSY' : WITHOUT ANY CHANGE
2)PAGE 18
ADD 'ZRT COTENTIN HIGH' :
-LATERAL LIMITS :
500000N 0010706W
500000N 0005922W
491619N 0005714W
491637N 0010525W
500000N 0010706W
-VERTICAL LIMITS :
FL205/FL215
-ACTUAL TIME SLOTS PROVIDED BY :
BREST CTL (SECTEUR JS) : 127.385MHZ

THIS AIP SUP IS **AVBL** AT WWW.SIA.AVIATION-CIVILE.GOUV.FR
F) FL095 G) FL215

R2096/25
TRIGGER NOTAM - AIP SUP 159/25 : WEAPON AIRCRAFT TRAINING
REQUIRING
THE CREATION, ON AN EXPERIMENTAL BASIS, OF 3 TEMPORARY RESTRICTED
AREAS IN THE SAINT-DIZIER REGION.
THIS AIP SUP IS **AVBL** AT WWW.SIA.AVIATION-CIVILE.GOUV.FR
F) FL065 G) FL195

R1851/25
TEMPORARY RESTRICTED AREA (ZRT) OVER 'LE DOMAINE DE CHAMBORD'
1. LATERAL LIMITS :
1NM RADIUS CIRCLE CENTRED ON 473702N 0013106E
EXCEPT AREA LF-R149A WHEN **ACTIVATED**
2. STATUS :
ZRT REPLACES THE OVERLAPPING AIRSPACE PARTS.
3. SERVICES PROVIDED :
FLIGHT INFORMATION AND ALERT PROVIDED BY SEINE INFO OR PARIS INFO
4. GAT/OAT ENTRY CONDITIONS : MOTOR-PROPELLED ACFT :
COMPULSORY AREA AVOIDANCE EXCEPT FOR:
- ACFT ON MIL ACTIVITY, CUSTOMS, POLICE, RESEACH, RESCUE
,FIRE FIGHTING AND MEDICAL TRANSPORT OPERATIONS WHEN FORCED TO
ENTER THE ZRT.
- ACFT IN IFR RNP 30 PROCEDURE ON 'BLOIS LE BREUIL' **AD** (LFOQ)
- ACFT AUTHORIZED BY 'LE PREFET DU LOIR ET CHER' AFTER NOTICE OF
'DSAC OUEST' AND OF THE 'DOMAINE NATIONAL DE CHAMBORD' GENERAL
MANAGER
- MODEL FLYING ACTIVITY NR8272 'VINEUIL'
5. INFO FOR AIR USERS :
SEINE INFO 127.815MHZ (DURING ATS SKED)
PARIS INFO 129.625MHZ (OUTSIDE 'SEINE' ATS SKED)
F) SFC G) 2600FT AMSL

R1655/25
TEMPORARY RESTRICTED AREA (ZRT) CLOSE TO FORGES LES EAUX:
UNMANED ACFT FLIGHT OUT OF SIGHT
1/ LATERAL LIMITS:
4.3 NM RADIUS CIRCLE CENTRED ON 493611N 0013124E
2/STATUS:
ZRT WHICH, WHEN **ACTIVATED**, REPLACES THE OTHER OVERLAPPING AIRSPACE PARTS.
3/PROVIDED SERVICES :
FLIGHT INFORMATION AND ALERT PROVIDED BY 'LILLE INFO' OR 'BEAUVAIS INFO'
4/ OAT/GAT ENTRY CONDITIONS :
COMPULSORY AVOIDANCE DURING ACTUAL ACTIVITY EXC :
-UNMANED ACFT PARTICIPATED TO OPERATION
-ACFT PERFORMING MILITARY, CUSTOMS, POLICE, SEARCH AND RESCUE, FIRE FIGHTING, MEDICAL TRANSPORTATION OPERATIONS WHEN FORCED TO ENTER AFTER COODINATION WITH OPERATION DIRECTOR(TEL: +33 279 580 040) 5/ACTUAL ACTIVITY KNOWN BY :
LILLE INFO: 134.825MHZ
BEAUVAIS APP: 123.985MHZ
F) SFC G) 400FT AGL

W1335/25
AEROBATICS ACTIVITY NR6457 'SAINCAIZE' (58) **WITHDRAWN**
PSN : 465600N 0030400E
REF ENR5.5
F) 2500FT AGL G) 4500FT AGL

R1350/25
TRIGGER NOTAM - AIP SUP 111/25.
UNMANNED STATE ACFT OVER 'SALBRIS' AREA REQUIRING THE CREATION OF A TEMPORARY RESTRICTED AREA ('ZRT DRONES').
'ZRT' ACTIVATION BY NOTAM WITH 48HR PRIOR NOTICE.
THIS AIP SUP IS **AVBL** AT WWW.SIA.AVIATION-CIVILE.GOUV.FR
F) SFC G) 3400FT AMSL

R1126/25
TRIGGER NOTAM - AIP SUP 094/25 :
PARACHUTING WITH CANOPY DRIFTING IN THE ROMORANTIN AREA REQUIRING THE CREATION OF 4 TEMPORARY RESTRICTED AREAS.
THIS AIP SUP IS **AVBL** AT WWW.SIA.AVIATION-CIVILE.GOUV.FR
F) SFC G) FL285

R1172/25
TRIGGER NOTAM - AIP SUP 088/25 MODIFIED :
UAV FLIGHTS IN CHAUMONT, MAILLY, SUIPPES AND SISSONNE REGIONS
REQUIRING THE CREATION OF A 5 TEMPORARY RESTRICTED AREAS.
THESE AREAS CAN BE **ACTIVATED** FROM MON 05H00 TO FRI 11H00 (SUM :
-1HR) EXCEPT ON PUB HOL, BY A D-7 PRIOR NOTICE NOTAM.

--- 'ZRT TRANSIT B', HAND AMEND THE COORDINATES OF THE POINT AFTER
THE FIRST ARC OF CIRCLE :
READ 483250N 0042902E INSTEAD OF 083250N 0042902E.

THIS AIP SUP IS **AVBL** AT WWW.SIA.AVIATION-CIVILE.GOUV.FR
F) FL055 G) FL125

W0904/25
AEROBATICS ACTIVITY AT 'PRE SAINT MARTIN' :
AXIS 170/350
LENGTH 2000M
CENTRED ON PSN 481243N 0012936E (RDL 026/10NM ARP LFOC CHATEAUDUN)
WINTER SKED : 0900-1100 1300-1600 (SUMMER SKED : -1HR)
USERS INFORMATION :
SEINE INFO 127.815MHZ
PARIS INFO 129.625MHZ
F) 1500FT AMSL G) 4500FT AMSL

W0928/25
SR-SS
PARAGLIDER WINCHING ACT AT 'VIENNE EN VAL' :
RDL : 196/05NM LFOZ ARP
PSN : 474858N 0020749E
(FLASHING LIGHTS ON WINCH)
F) SFC G) 2000FT AMSL

R1032/25
TRIGGER NOTAM - AIP SUP 233/24 MODIFIED :
REMOTELY PILOTED AIRCRAFT FLYING OVER FRANCE UPPER AIRSPACE
REQUIRING THE CREATION OF A TEMPORARY DANGEROUS AREA AND TEMPORARY
RESTRICTED AREAS.
THESE AREAS ARE **ACTIVATED** BY NOTAM 48HR BEFORE (ON WORKING DAY).

CORRECT FOR READ :
RELEVANT AUTHORITIES CONTACT DETAILS
'CDC LYON MONT VERDUN' (RAMBERT) : +33 4 87 65 61 99

THIS AIP SUP IS **AVBL** AT WWW.SIA.AVIATION-CIVILE.GOUV.FR
F) FL490 G) FL550

R0685/25
TRIGGER NOTAM - AIP SUP 048/25
CREATION OF 6 TEMPO RESTRICTED AREAS (ZRT) AND 5 TEMPO **DANGER**
AREAS FOR UNMANNED ACFT FLYING OUT OF SIGHT IN THE BAY OF 'SEINE'
AND 'COTENTIN', ACTIVABLE BY NOTAM WITH A 48HR PN.
THIS AIP SUP IS **AVBL** AT WWW.SIA.AVIATION-CIVILE.GOUV.FR
F) SFC G) 2000FT AMSL

W0540/25
SR-SS
MODEL FLYING ACTIVITY NR 8700 'LAMOTTE BEUVRON' MODIFIED :
NEW PSN : 473558N 0020048E (PSN DISPLACED 1000M IN THE
SOUTH-EAST). F) SFC G) 1400FT AMSL

R0609/25
TRIGGER NOTAM - AIP SUP 039/25
CREATION OF 2 TEMPO RESTRICTED AREAS FOR UNMANNED ACFT IN THE
SOUTH OF PARIS, **ACTIVATED** BY NOTAM.
THIS AIP SUP IS **AVBL** AT WWW.SIA.AVIATION-CIVILE.GOUV.FR
F) SFC G) 500FT AGL

R0682/25
TRIGGER NOTAM - AIP SUP 046/25
MIL ACTIVITIES REQUIRING THE CREATION OF 12 TEMPO RESTRICTED AREAS (ZRT) IN THE AREA OF 'CHATEAUDUN' AND 'ORLEANS-BRICY' **AD**, ACTIVABLE BY
NOTAM WITH 48HR PN.
THIS AIP SUP IS **AVBL** AT WWW.SIA.AVIATION-CIVILE.GOUV.FR
F) SFC G) FL065
W0155/25
SR-SS
MODEL FLYING ACTIVITY NR 8274 'SANDILLON' CHANGED :
PSN CHANGED : 474918N 0020323E
(1.2NM TO THE SOUTH-SOUTHWEST)
F) SFC G) 500FT AGL
W2942/24
SR-SS
UNMANNED AIRCRAFT (UA) ACTIVITY ABOVE 'VAUDOY EN BRIE' FOR EXPERIMENTS
PSN : 484024N 0030441E (COLOCATED WITH MODEL FLYING ACTIVITY AEM NR 8604 'VAUDOY EN BRIE')
RDL 031/5.4NM ARP LFAI.
F) SFC G) 1400FT AMSL

++++++++++++++++++++++++++++++ ROUTE ++++++++++++++++++++++++++++++

F0301/26
TRIGGER NOTAM - PERM AIRAC AIP AMDT 03/26 WEF 19 MAR 2026.
MODIFICATION OF AWY N872 : ADDITION OF 'PITHI' POINT
F1752/25
'NORTH EAST' FRA CELL - AIRAC AIP AMDT, CHART ENR 6.2 ED2/2025 :
ADD THE FOLLOWING SEGMENTS :
AWY B3 : RLP-VUCTU / VERMA-CMB
AWY J10 : DIKOL-SUIPE
AWY L613 : VESAN-RATUK / RATUK-SOVAT
AWY L615 : LUREN-DJL
AWY N57 : EGOZE-ABB
AWY N872 : MEDIL-LESDO
AWY N873 : ADUTO-VEKIN
AWY N874 : VENOR-EGOZE / NURMO-VENOR / PERON-NURMO / SULEX-PERON / CMB-SULEX / VEKIN-CMB
AWY Q763 : TALUD-RAPOR
AWY T22 : ABB-RATUK
AWY T37 : TRO-BOLLY / BOLLY-KASON / KASON-DJL
AWY T372 : VERMA-LESDO
AWY Y473 : LUMIL-TULNI
AWY Z110 : AMPUM-VAVOT / VAVOT-MMD
AWY Z173 : VEKIN-ARVOL
AWY Z373 : CMB-ARVOL
FOR MORE DETAILS, REFERENCE AIP FRANCE ENR 3.2.
F1751/25
'CENTER' FRA CELL - AIRAC AIP AMDT 12/25, CHART ENR 6.2 ED2/2025 :
ADD FOLLOWING SEGMENTS :
AWY A3 : MOU - OMANI / OMANI - FEDZI / FEDZI - LESPI.
FOR MORE DETAILS, REFERENCE AIP FRANCE ENR 3.2-2.

F1714/25
ADDITION OF THE SIGNIFICANT POINT 'PITHI' ON AWY N872 :
COORDINATES : 501126.5N 0033422.2E
MEDIL
204DEG 10NM FL500 FL115 PARIS/REIMS
PITHI
204DEG 25NM FL500 FL115 PARIS/REIMS
LESDO
REFERENCE AIP FRANCE ENR 3.2-56 AND ENR 4.4-25.

==========
EXTENDED AREA AROUND DESTINATION
==========

EBBU BRUSSELS FIR

++++++++++++++++++++++++++++ FIR/UIR ++++++++++++++++++++++++++++++

D0133/26
STEENOKKERZEEL ATCC OPR HR: MON 0900-2200, TUE 0930-2200
F0804/26
FRASNES WIND TURBINE 503923N 0033911E 150M AGL, OBST LGT **U/S**
F0589/26
FROYENNES WIND TURBINE 503713N 0031936E 164M AGL, OBST LGT **U/S**

+++++++++++++++++++++++ RESTRICTED AIRSPACE +++++++++++++++++++++++

F0843/26 VALID: 23-MAR-26 1300 - 23-MAR-26 1700
EBR79D - BEVERLO UAS 30 ACT
F) GND G) 500FT AGL
F0840/26 VALID: 23-MAR-26 1115 - 23-MAR-26 1230
EBD26-ARDENNES 05 ACT
F) 1000FT AGL G) 4500FT AMSL
G0613/26 VALID: 23-MAR-26 1115 - 23-MAR-26 1230
TSA26A - ARDENNES 01 AND TSA26B - ARDENNES 04 ACT
GAT ALLOWED TO CROSS TRACK MATIX-MMD ON FIXED LVL BLW FL195 AFTER
COOR BTN BELGA RADAR AND CRNA/NORD
F) 4500FT AMSL G) UNL
F0844/26
0900-1500 1800-2000
TSA28D-ELSENBORN 05 ACT
F) GND G) 4500FT AMSL
F0842/26
0830-1130 1230-1530
HTA10A- COASTAL HELICOPTER TRAINING AREA ACT
F) GND G) 500FT AGL
G0622/26
EBR05A - HELCHTEREN ACT
F) GND G) FL050
F0841/26 VALID: 23-MAR-26 0730 - 23-MAR-26 1030
HTA02-ARDENNES 02 ACT
F) GND G) 250FT AGL
G0617/26
LFA11-KOKSIJDE TRAINING AREA ACT
F) 10FT AMSL G) 500FT AMSL
F0745/26
DAILY 0700-1600
ELTSA6-DIEKIRCH NORTH ACT
F) GND G) 3000FT AMSL

F0746/26
DAILY 0700-1600
ELTSA7-DIEKIRCH SOUTH ACT
F) GND G) 3000FT AMSL
G0615/26
EBR17A-LOMBARDSIJDE SECTOR ALPHA ACT
F) SFC G) 2500FT AMSL
G0614/26
EBR04-ELSENBORN 01 ACT
F) GND G) FL105
G0616/26
EBR20-BRASSCHAAT ACT
F) GND G) FL070
G0623/26
EBR17D - LOMBARDSIJDE SECTOR DELTA ACT
F) GND G) 500FT AMSL
F0839/26
EBR79E - BEVERLO UAS 40 ACT
F) GND G) 500FT AGL
F0838/26
EBR79C - BEVERLO UAS 20 ACT
F) GND G) 500FT AGL
F0700/26
11 13 17 19 23 25 27 0700-1500, 31 0600-1400
TSA36-FLAWINNE ACT, BEYOND VISUAL LINE OF SIGHT
F) GND G) 500FT AGL
F0008/26
EVERY MON-FRI H24
EBR67 NIVELLES ACT
F) GND G) 400FT AGL

EXTENDED AREA AROUND DESTINATION ALTERNATE AIRPORT(S)

EBBU BRUSSELS FIR

Please see section EXTENDED AREA AROUND DESTINATION

AREA ENROUTE DEPARTURE - DESTINATION

EBBU BRUSSELS FIR

Please see section EXTENDED AREA AROUND DESTINATION

[Company NOTAM]

==========

CREW ALERT

==========

SB007/14

SUBJECT: AUTO COST INDEXES
WHEN PLANNING A COST INDEX, 2 OPTIONS ARE AVAILABLE. PILOTS MAY EITHER SELECT A SPECIFIC COST INDEX NUMBER FROM THE LIST, OR THEY MAY SELECT "AUTO". WHEN PLANNING AN "AUTO" COST INDEX, THE SYSTEM WILL REFERENCE THE SCHEDULED "TIME ENROUTE" OPTION AND ATTEMPT TO CHOOSE A COST INDEX WHICH CLOSELY MATCHES THIS VALUE. NOTE THAT THE "TIME ENROUTE" OPTION IS MEANT AS A GATE TO GATE TIME (AS INDICATED ON AN AIRLINE'S FLIGHT SCHEDULE, FOR EXAMPLE). IF A "TIME ENROUTE" OF 2:30 IS SELECTED, THE SYSTEM WILL SUBTRACT THE TAXI TIMES FROM THIS VALUE TO DETERMINE THE SCHEDULED AIR TIME. IT WILL THEN DETERMINE AND USE THE COST INDEX WHICH MATCHES THIS AIR TIME.

SB003/13

SUBJECT: FLIGHT RELEASE UNITS
ALL FLIGHT CREW: PLEASE PAY SPECIAL ATTENTION TO THE UNITS SELECTION WHEN GENERATING A FLIGHT PLAN. FAILURE TO IDENTIFY THE CORRECT UNITS WHEN REFUELING PRIOR TO FLIGHT CAN RESULT IN DEPARTING WITH INSUFFICIENT FUEL AND/OR AN ERRONEOUS PAYLOAD.

==========

CREW BULLETIN

==========

NIL

========== END OF LIDO-NOTAM-BULLETIN ==========

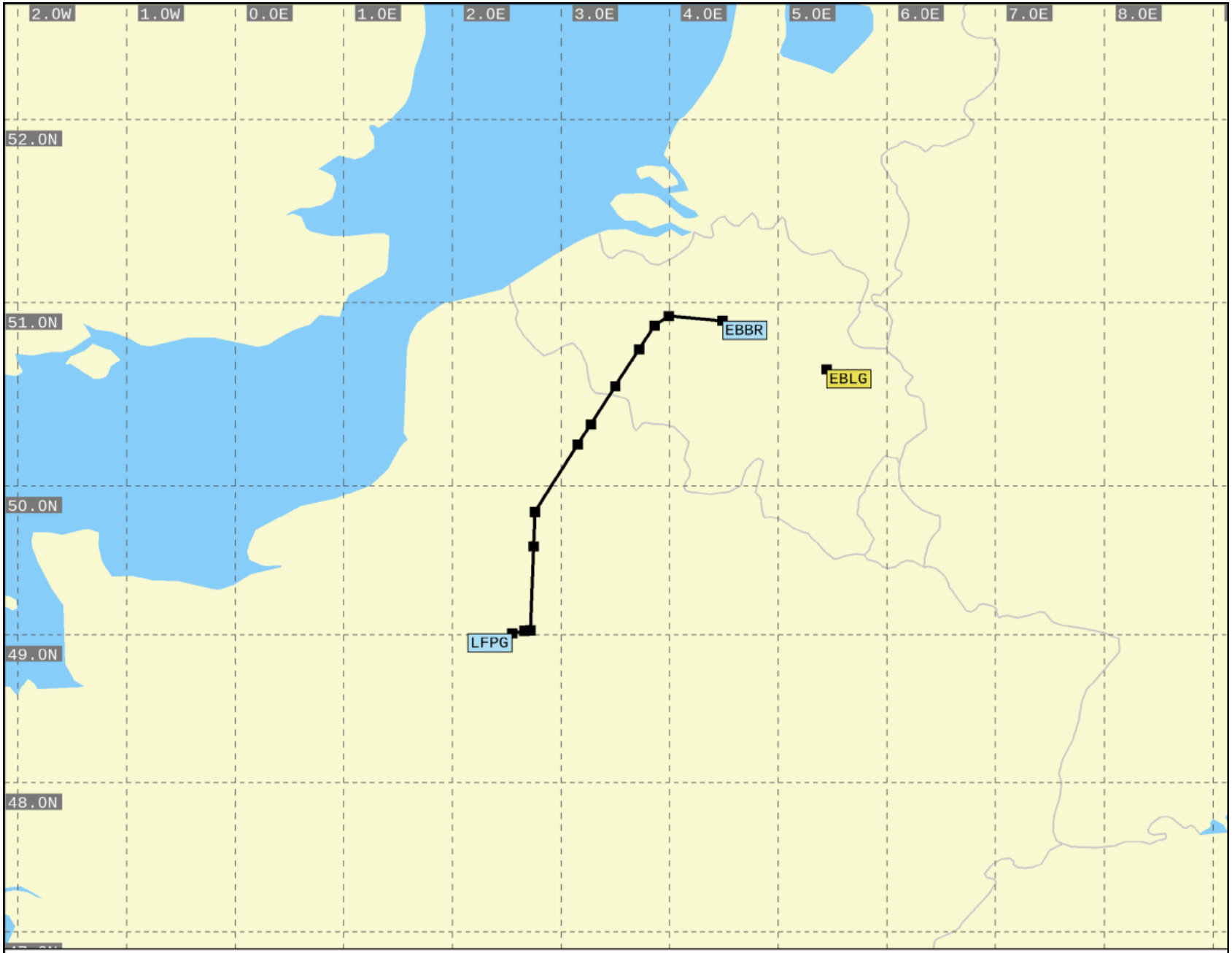

Flight: AY1009 Dep / Dest: CDG / BRU

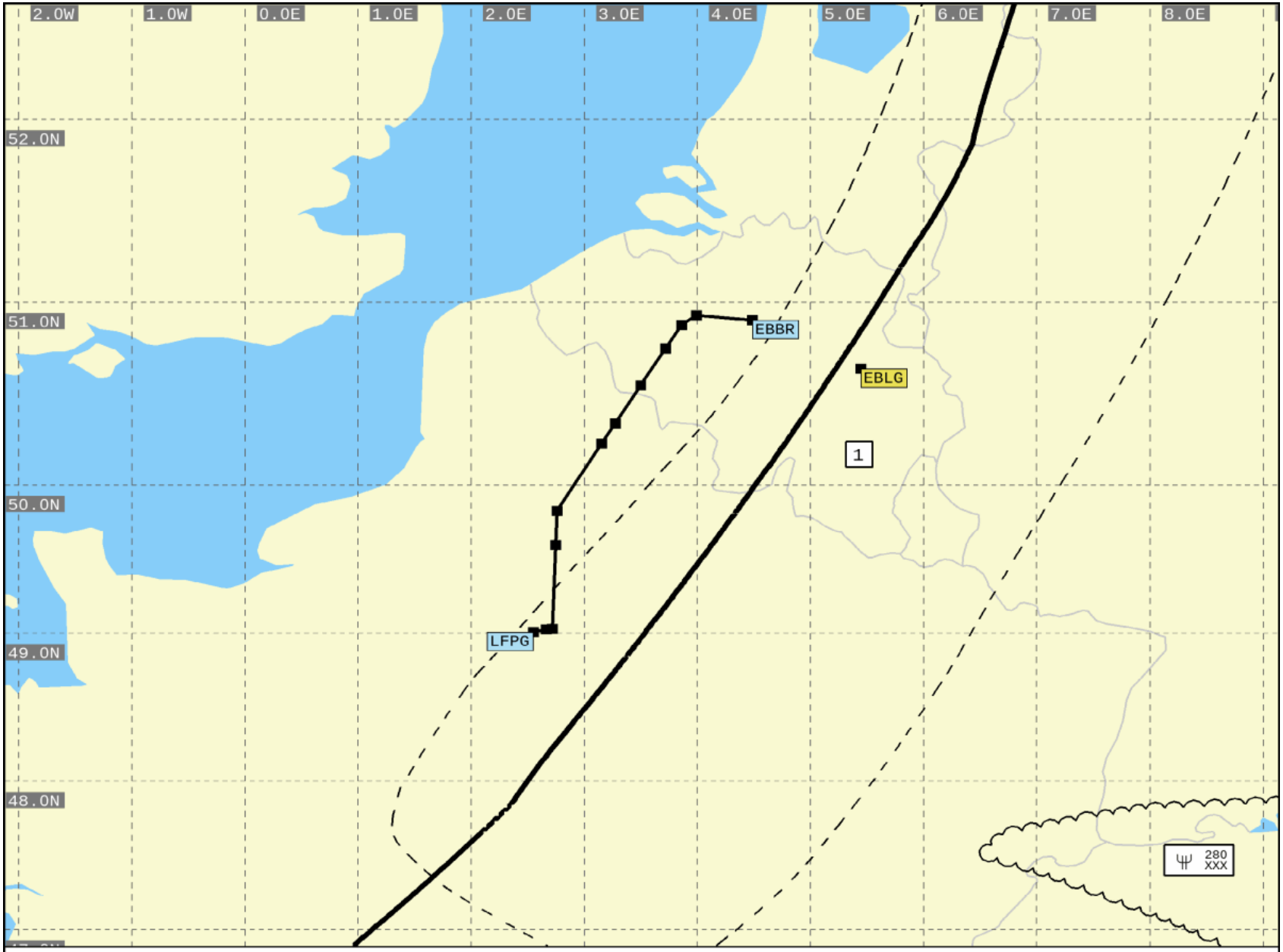

SIG WX FL 100-450 WASHINGTON 1 400 160
VALID 12 UTC ON 23.Mar.2026

Flight: AY1009 Dep / Dest: CDG / BRU

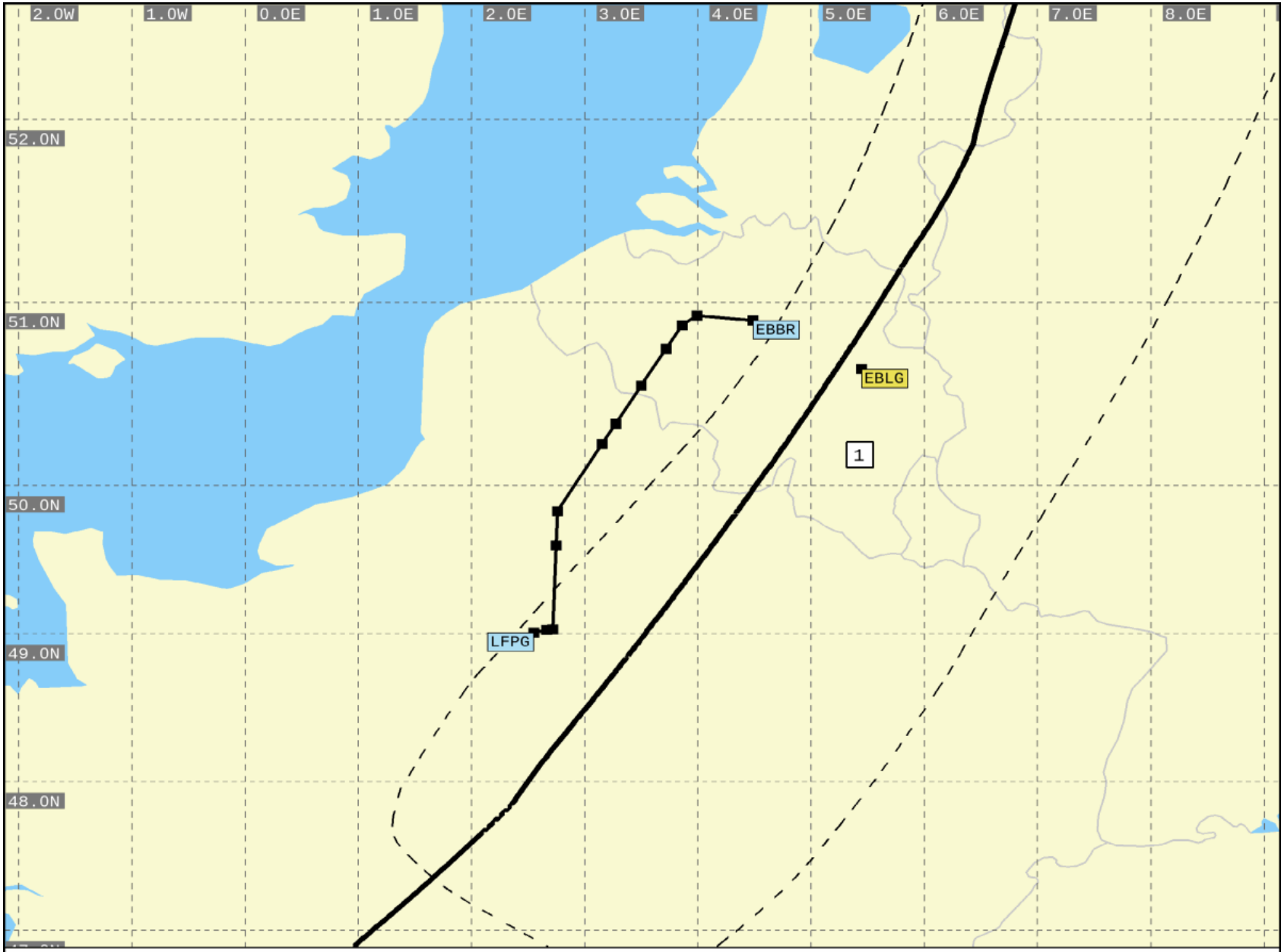

SIG WX FL 250-630 WASHINGTON 1 400
VALID 12 UTC ON 23.Mar.2026 XXX

Flight: AY1009 Dep / Dest: CDG / BRU

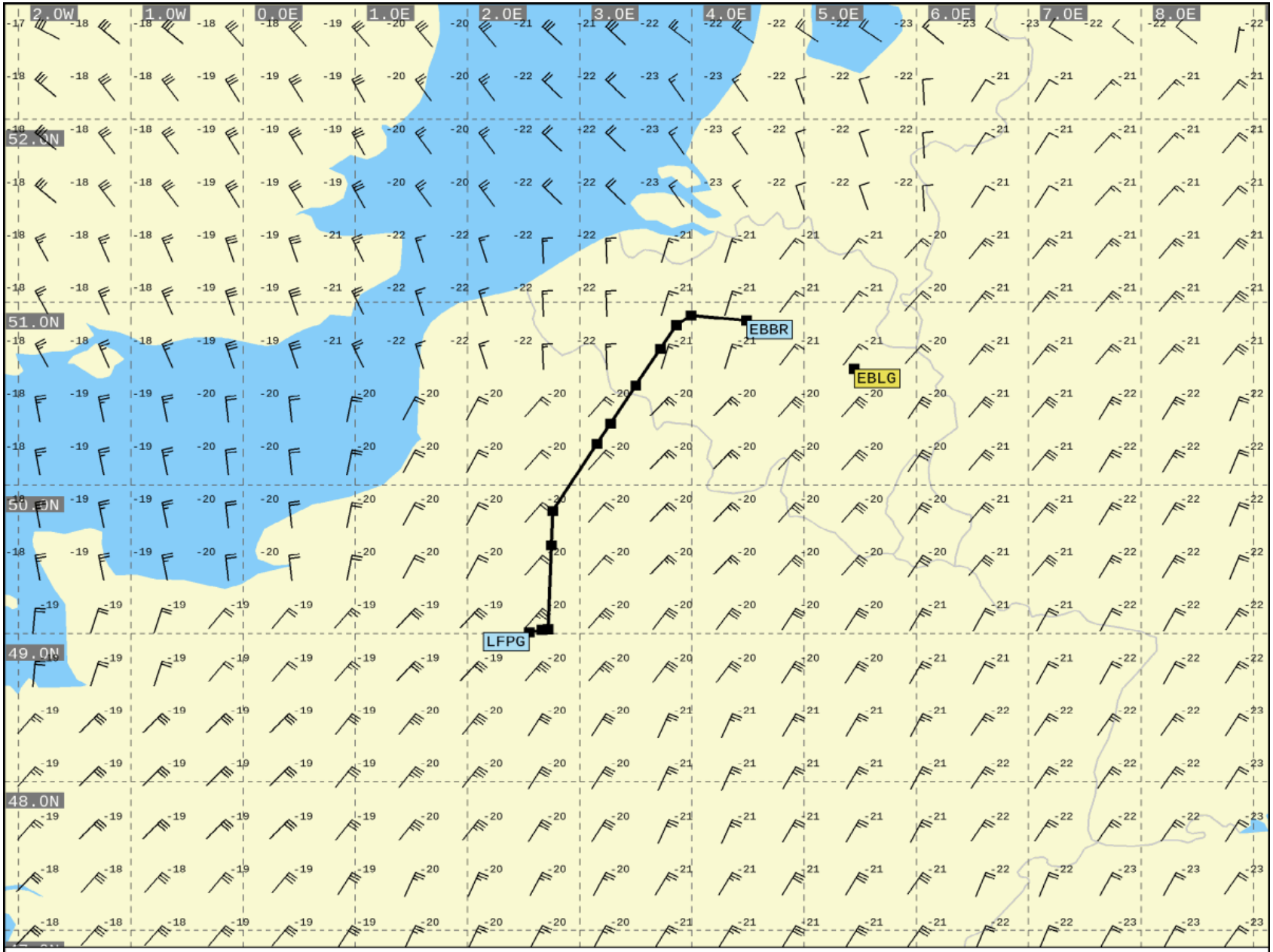

UAD VALID 12 UTC ON 23.Mar.2026 06h FL 180

Flight: AY1009 Dep / Dest: CDG / BRU

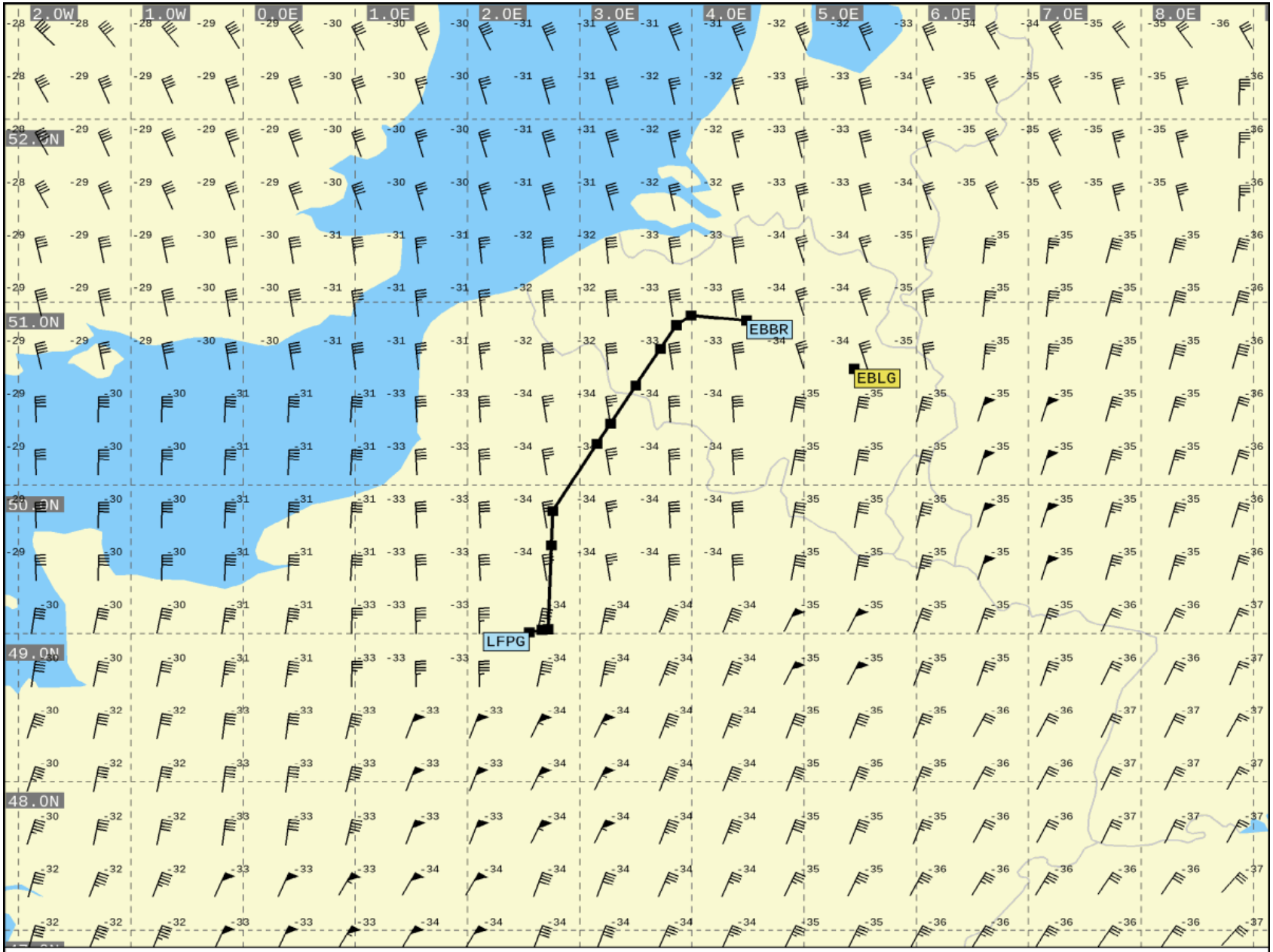

UAD VALID 12 UTC ON 23.Mar.2026 06h FL 240

Flight: AY1009 Dep / Dest: CDG / BRU

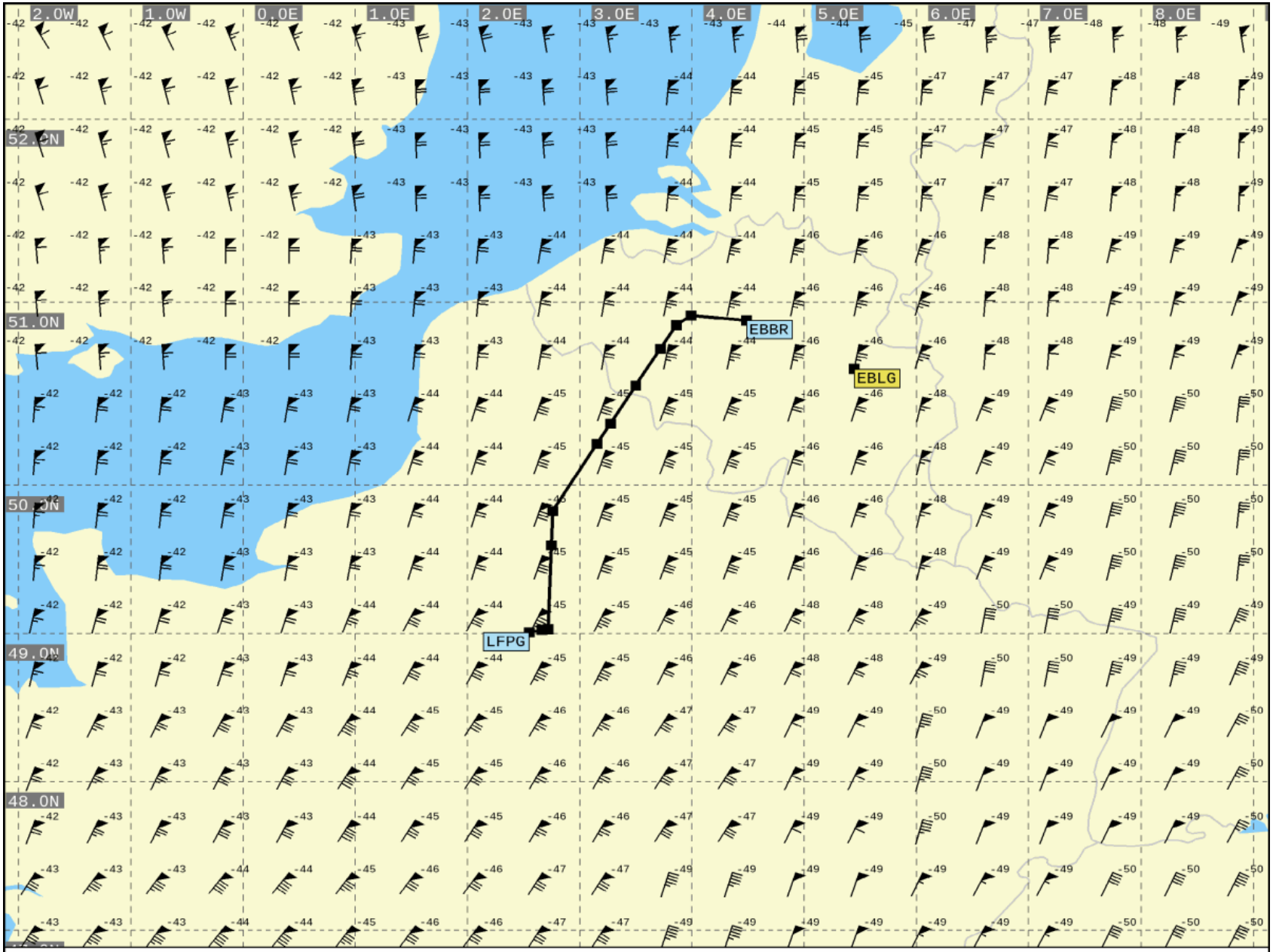

UAD VALID 12 UTC ON 23.Mar.2026 06h FL 300

Flight: AY1009 Dep / Dest: CDG / BRU

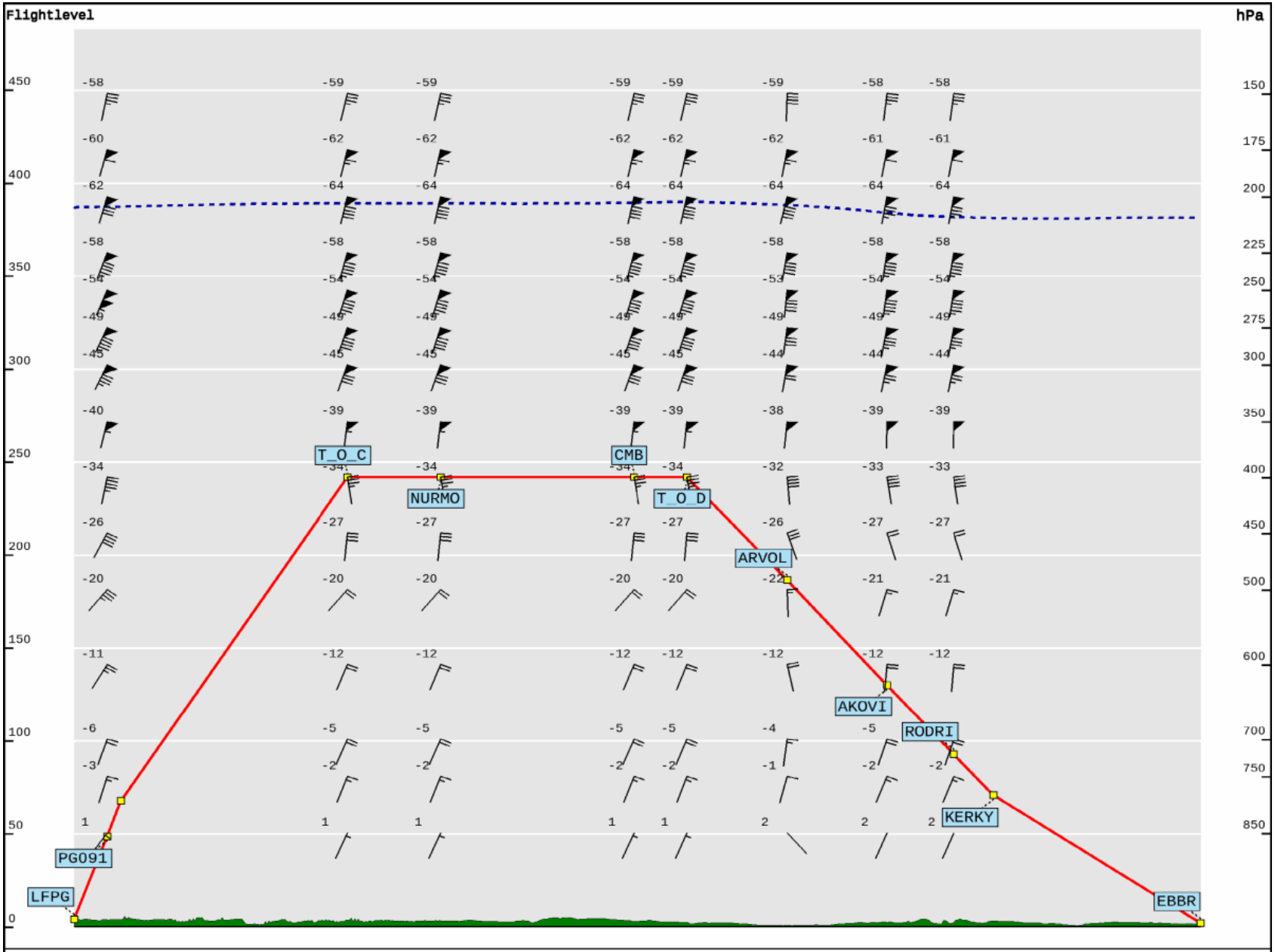

Profile VALID 12 UTC ON 23.Mar.2026 06h Average

Flight: AY1009 Dep / Dest: CDG / BRU

End of Document: Total Number of Pages: 42