[OFP]

```
FIN1014   25APR2026    LIMC-LIRF   A333 N339SB  RELEASE 1741 25APR26
OFP 1              MALPENSA-FIUMICINO
                                   WX PROG 2518 2521   OBS 2512 2512

  ATC C/S   FIN1014      LIMC/MXP   LIRF/FCO      CRZ SYS      CI 14
25APR2026   N339SB       1810/1830  1921/1929     GND DIST       335
A330-300 / TRENT 772                STA  1935     AIR DIST       326
                         CTOT:....                G/C DIST       276
                                                  AVG WIND   292/014
MAXIMUM    TOW 233000  LAW 187000  ZFW 175000     AVG W/C       P010
ESTIMATED  TOW 161090  LAW 156213  ZFW 149107     AVG ISA       M001
                                                  AVG FF KGS/HR 5667
                                                  FUEL BIAS    P00.0
ALTN LIRN                                         TKOF ALTN  .......
FL STEPS LIMC/0410/
-----------------------------------------------------------------------
DISP RMKS   NIL

-----------------------------------------------------------------------
         PLANNED FUEL
----------------------------------
FUEL           ARPT   FUEL   TIME
----------------------------------
TRIP            FCO   4877   0051
CONT 15 MIN           1417   0015
ALTN            NAP   3563   0039
FINRES                2126   0030
----------------------------------
MINIMUM T/OFF FUEL   11983   0216
----------------------------------
EXTRA                    0   0000
----------------------------------
T/OFF FUEL           11983   0216
TAXI            MXP    544   0020
----------------------------------
BLOCK FUEL      MXP  12527
PIC EXTRA            .....
TOTAL FUEL           .....
REASON FOR PIC EXTRA ............
-----------------------------------------------------------------------
FMC INFO:
FINRES+ALTN           5689
TRIP+TAXI             5421
-----------------------------------------------------------------------
NO TANKERING RECOMMENDED (P)
-----------------------------------------------------------------------
I HEREWITH CONFIRM THAT I HAVE PERFORMED A THOROUGH SELF BRIEFING
ABOUT THE DESTINATION AND ALTERNATE AIRPORTS OF THIS FLIGHT
INCLUDING THE APPLICABLE INSTRUMENT APPROACH PROCEDURES, AIRPORT
FACILITIES, NOTAMS AND ALL OTHER RELEVANT PARTICULAR INFORMATION.

DISPATCHER: BOB JOSEPH                  PIC NAME: GM, PAYAM

TEL: +1 800 555 0199               PIC SIGNATURE: ...............
```

```
ALTERNATE ROUTE TO:                                          FINRES   2126
APT      TRK DST              VIA                   FL  WC  TIME  FUEL
----------------------------------------------------------------------
LIRN/24  120 212  RIFFI9H RIFFI DCT PNZ PNZ1A    270 M000 0039  3563
----------------------------------------------------------------------

MEL/CDL ITEMS DESCRIPTION
------------- -----------

----------------------------------------------------------------------

ROUTING:

ROUTE ID: DEFRTE
LIMC/17R ROBAS5Z ROBAS DCT TINKU DCT XIBIL XIBIL3A LIRF/16L

----------------------------------------------------------------------
DEPARTURE ATC CLEARANCE:
.
.
.
----------------------------------------------------------------------
                         OPERATIONAL IMPACTS
                         -------------------
WEIGHT CHANGE UP 1.0          TRIP  P 0022 KGS   TIME M 0000
WEIGHT CHANGE DN 1.0          TRIP  M 0025 KGS   TIME M 0000
FL CHANGE     UP FL1                 NOT AVAILABLE
FL CHANGE     DN FL1          TRIP  M 0043 KGS   TIME P 0000
FL CHANGE     DN FL2          TRIP  M 0040 KGS   TIME P 0001
SPD CHANGE    CI 0            TRIP  M 0001 KGS   TIME P 0000
SPD CHANGE    CI 300          TRIP  P 0035 KGS   TIME M 0000
----------------------------------------------------------------------
```

```
-----------------------------------------------------------------------
ATIS:
.
.
--------- --------- --------- --------- --------- --------- --------
RVSM: ALT SYS  LEFT:             STBY:             RIGHT:

--------- --------- --------- --------- --------- --------- --------
-----------------------------------------------------------------------
                               TIMES
                               -----

               ESTIMATED       SKED              ACTUAL

OUT            1810Z/2010L     1810Z/2010L       ......Z

OFF            1830Z/2030L     1830Z/2030L       ......Z

ON             1921Z/2121L     1927Z/2127L       ......Z

IN             1929Z/2129L     1935Z/2135L       ......Z

BLOCK TIME     0119            0125              ......

-----------------------------------------------------------------------
                              WEIGHTS
                              -------

                EST      MAX     ACTUAL

PAX             209              ......

BAG/CARGO       5.2              ......

PAYLOAD        21.8              ......

ZFW           149.1    175.0     ......

FUEL           12.5     43.3     ......  POSS EXTRA 30.8

TOW           161.1    191.9  LDG......

STAB TRIM                        ......

LAW           156.2    187.0     ......

-----------------------------------------------------------------------
                       TERRAIN CLEARANCE CHECK
                       -----------------------
DD CHECK - TERRAIN CLEARANCE CHECK DISABLED

DP CHECK - TERRAIN CLEARANCE CHECK DISABLED
-----------------------------------------------------------------------
```

FLIGHT LOG

MOST CRITICAL MORA 08500 FEET AT ROBAS///MXSHR 02 AT TOC

AWY POSITION IDENT FREQ	LAT LONG	EET TTLT	ETO ATO	FL MORA DIS	IMT ITT RDIS	MN TAS GS	WIND COMP SHR	OAT TDV TRP	EFOB AFOB	PBRN ABRN
					180				12.0	0.5
MALPENSA	N4537.8		...	29	183		P000			
LIMC	E00843.4	0000	...		335	273			....	....
ROB5Z				052	150	.41	274/002	11	11.3	1.2
MC653	N4532.1	0002	...	26	153		P000	P06		
MC653	E00842.9	0002	...	6	329	273		395	....	....
ROB5Z				109	106	.55	351/014	M01	10.9	1.6
NOBKE	N4525.5	0001	...	25	109		P013	P06		
NOBKE	E00847.6	0003	...	7	322	371		403	....	....
ROB5Z				122	106	.57	344/013	M04	10.8	1.7
MC532	N4524.5	0001	...	25	109		P007	P05		
MC532	E00851.7	0004	...	3	319	372		403	....	....
ROB5Z				269	154	.77	309/027	M36	9.6	2.9
ROBAS	N4511.6	0006	...	85	157		P025	P03		
ROBAS	E00943.6	0010	...	39	280	491		400	....	....
DCT				410	156	.80	287/020	M63	8.3	4.3
T O C	N4352.0	0010	...	49	158	452	P013	M06		
	E01029.0	0020	...	86	194	465	2	404	....	....
DCT				410	158	.80	284/022	M63	8.2	4.3
TINKU	N4345.8	0000	...	50	161	450	P013	M06		
TINKU	E01032.4	0020	...	7	187	463	2	405	....	....
ROME FIR/UIR										
-LIRR	N4337.8	0001	...							
	E01036.1	0021	...	8	179					
DCT				410	159	.80	283/014	M63	7.7	4.8
T O D	N4257.5	0006	...	38	161	450	P007	M06		
	E01054.7	0027	...	43	136	457	2	408	....	....
DCT				380	119	.80	276/012	M62	7.7	4.8
XIBIL	N4247.8	0002	...	39	122		P005	M05		
XIBIL	E01059.0	0029	...	10	126	458		408	....	....
XIBIL3A				295	157	.80	279/013	M44	7.6	4.9
IPLEK	N4232.7	0004	...	36	160		P012	P00		
IPLEK	E01131.0	0033	...	28	98	484		409	....	....
XIBIL3A				267	157	.77	314/007	M37	7.6	5.0
GOPOL	N4224.2	0001	...	25	160		P006	P01		
GOPOL	E01135.0	0034	...	9	89	469		401	....	....

```
AWY                                FL   IMT   MN    WIND  OAT  EFOB  PBRN
POSITION    LAT      EET ETO MORA  ITT  TAS    COMP  TDV
IDENT       LONG    TTLT ATO DIS  RDIS   GS     SHR  TRP  AFOB  ABRN
FREQ
-----------------------------------------------------------------------
XIBIL3A                         240   158  .72 283/008  M30   7.5   5.0
GIXOM       N4215.7 0002 ...  29   162         P004  P03
GIXOM      E01138.9 0036 ...   9    80  447          401  ....  ....

XIBIL3A                         197   068  .66 279/006  M19   7.5   5.0
USIRU       N4202.9 0002 ...  41   072         P003  P05
USIRU      E01144.5 0038 ...  14    66  416          401  ....  ....

XIBIL3A                         176   339  .63 264/006  M13   7.5   5.1
GIPAP       N4205.0 0001 ...  41   342         P006  P07
GIPAP      E01153.4 0039 ...   7    59  406          401  ....  ....

XIBIL3A                         161   339  .61 265/007  M09   7.5   5.1
RF422       N4209.7 0001 ...  38   342         M002  P08
RF422      E01151.4 0040 ...   5    54  389          401  ....  ....

XIBIL3A                         146   338  .59 292/006  M07   7.4   5.1
RF423       N4214.5 0001 ...  31   342         M004  P07
RF423      E01149.4 0041 ...   5    49  377          401  ....  ....

XIBIL3A                         131   068  .58 303/005  M05   7.4   5.1
RF424       N4219.3 0000 ...  34   072         M004  P06
RF424      E01147.3 0041 ...   5    44  367          401  ....  ....

XIBIL3A                         109   158  .55 311/003  M00   7.4   5.1
RF426       N4221.4 0001 ...  39   162         P002  P07
RF426      E01156.3 0042 ...   7    37  360          401  ....  ....

XIBIL3A                         094   158  .45 314/003   02   7.4   5.1
RF427       N4216.6 0001 ...  39   162         P003  P06
RF427      E01158.4 0043 ...   5    32  294          401  ....  ....

XIBIL3A                         079   158  .43 313/003   05   7.4   5.1
RF428       N4211.9 0001 ...  39   162         P003  P06
RF428      E01200.4 0044 ...   5    27  287          401  ....  ....

XIBIL3A                         064   151  .42 309/002   07   7.4   5.2
SUVOK       N4207.1 0001 ...  36   155         P002  P05
SUVOK      E01202.4 0045 ...   5    22  279          402  ....  ....

XIBIL3A                                                   7.1   5.4
FIUMICINO   N4148.0 0006 ...
LIRF       E01214.3 0051 ...  22                       ....  ....
```

WIND INFORMATION

CLIMB	T O C	TINKU	T O D
350 286/020 -56	450 307/021 -62	450 302/022 -62	450 293/018 -62
310 304/032 -47	430 301/021 -62	430 295/022 -62	430 289/017 -62
200 351/028 -19	410 287/020 -63	410 284/022 -63	410 283/014 -63
150 000/013 -10	390 275/021 -64	390 274/023 -64	390 275/012 -63
100 010/014 +00	370 279/021 -61	370 277/023 -61	370 279/011 -60

DESCENT
350 289/011 -56
310 291/011 -47
200 279/007 -20
150 284/006 -08
100 314/003 +01

[ATC Flight Plan]

```
-----------------------------------------------------------------------
                           ICAO FLIGHT PLAN
                           ----------------

FF LIMMZQZX LIRRZQZX
251741 CYULSBFP
(FPL-FIN1014-IS
-A333/H-SDE3GHIJ2J3J5M1RVWXY/LB2D1
-LIMC1810
-N0450F410 ROBAS5Z ROBAS DCT TINKU DCT XIBIL XIBIL3A
-LIRF0041 LIRN
-PBN/A1B1C1D1O1S2 DOF/260425 REG/N339SB EET/LIRR0021 OPR/FIN PER/C
 RMK/TCAS)
```

[Additional Info]

D I S P A T C H B R I E F I N G I N F O AY1014 LIMC/LIRF

[Runway Analysis]

```
----------------------------------------------------------------------

TAKEOFF AND LANDING REPORT FIN 1014 LIMC-LIRF 25APR26
TLR-1 SEQ-170746673 25APR26 1741Z
A/C N339SB  A330-300 TRENT 772  BEW/CG 127303/.....

/// TAKEOFF DATA ///

APT   PRWY  POAT PWIND  PQNH  PMRTW FLP MT V1 VR V2 PTOW MFPTW LIMIT
LIMC  17R   23.0 157M03 1013  2330  1   52 26 26 37 1611 1919  AFM

RMKS FLEX - SEL TEMP 52
     BLEEDS ON

---- ---- ------ ----- ------- --- --- --- --- --- -----------------
RWY  OAT  WIND   QNH   MRTW    FLP V1  VR  V2  PWR CONFIG/CONDITION

---------------------------- ACARS RUNWAYS --------------------------
RWY          ACARS  LENGTH PMTOW NOTES
17L                  12694  2330 ILS 110.75
17R                  12736  2330
35L                  12841  2330 ILS 109.10
35R                  12802  2330 ILS 109.90

-------------------- DRY RWY - PTOW - CALM WIND --------------------
RWY          MTOW MT CONFIG                   FLP  V1  VR  V2  LIMIT
17L          2330 52 FLEX - BLEEDS ON           1 126 126 137  AFM
17R          2330 52 FLEX - BLEEDS ON           1 126 126 137  AFM
35L          2330 52 FLEX - BLEEDS ON           1 126 126 137  AFM
35R          2330 52 FLEX - BLEEDS ON           1 126 126 137  AFM

--------------- DRY RWY - PTOW PLUS 4000 - CALM WIND ---------------
RWY          MTOW MT CONFIG                   FLP  V1  VR  V2  LIMIT
17L          2330 52 FLEX - BLEEDS ON           1 126 126 137  AFM
17R          2330 52 FLEX - BLEEDS ON           1 126 126 137  AFM
35L          2330 52 FLEX - BLEEDS ON           1 126 126 137  AFM
35R          2330 52 FLEX - BLEEDS ON           1 126 126 137  AFM

-------------------- WET RWY - PTOW - CALM WIND --------------------
RWY          MTOW MT CONFIG                   FLP  V1  VR  V2  LIMIT
17L          2330 52 FLEX - BLEEDS ON           1 126 126 137  AFM
17R          2330 52 FLEX - BLEEDS ON           1 126 126 137  AFM
35L          2330 52 FLEX - BLEEDS ON           1 126 126 137  AFM
35R          2330 52 FLEX - BLEEDS ON           1 126 126 137  AFM

--------------- WET RWY - PTOW PLUS 4000 - CALM WIND ---------------
RWY          MTOW MT CONFIG                   FLP  V1  VR  V2  LIMIT
17L          2330 52 FLEX - BLEEDS ON           1 126 126 137  AFM
17R          2330 52 FLEX - BLEEDS ON           1 126 126 137  AFM
35L          2330 52 FLEX - BLEEDS ON           1 126 126 137  AFM
35R          2330 52 FLEX - BLEEDS ON           1 126 126 137  AFM

/// LANDING DATA ///

APT   PRWY  POAT PWIND  PQNH  PMRLW FLP  PLDW  LIMIT
LIRF  16L   18.0 277M13 1016  1870  FULL 1562  AFM

RMKS WET RUNWAY
```

```
-------- ---- ------ ----- ------- --- ----- --- -------------------
RWY      OAT  WIND   QNH   MRLW    FLP VREF  PWR CONFIG/CONDITION

---------------------------- ACARS RUNWAYS --------------------------
RWY          ACARS  LENGTH PMRLW NOTES
07                   9488  1870
16L                 12802  1870 ILS 108.10
16R                 12802  1870 ILS 109.75
25                  10466  1870 ILS 110.15
34L                 12802  1870 ILS 108.90
34R                 12802  1870 ILS 111.55

------------- FLAPS FULL - PACKS ON - NO ENROUTE ICING -------------
DRY RWY / WET RWY
            07             16L            16R            25
  OAT       9488 FT        12802 FT       12802 FT       10466 FT
   13       1870A/1870A    1870A/1870A    1870A/1870A    1870A/1870A
 / 18       1870A/1870A    1870A/1870A    1870A/1870A    1870A/1870A
   23       1870A/1870A    1870A/1870A    1870A/1870A    1870A/1870A
HW/10KT         0/    0        0/    0        0/    0        0/    0
TW/10KT         0/    0        0/    0        0/    0        0/    0

            34L            34R
  OAT       12802 FT       12802 FT
   13       1870A/1870A    1870A/1870A
 / 18       1870A/1870A    1870A/1870A
   23       1870A/1870A    1870A/1870A
HW/10KT         0/    0        0/    0
TW/10KT         0/    0        0/    0

-------- LANDING DISTANCE - FLAPS FULL - MAX MANUAL BRAKING --------
                   ACTUAL             FACTORED
  LDW     VREF     DRY      WET      DRY      WET
  1540    126     3271     4129     4324     5310
  1560    126     3271     4129     4324     5310
/ 1580    126     3271     4129     4324     5310
  1600    126     3271     4129     4324     5310
  1620    127     3298     4162     4365     5360
HW/KT              -19      -25      -22      -28
TW/KT               59       74       88      106

END TAKEOFF AND LANDING REPORT FIN 1014 LIMC-LIRF 25APR26
```

[Airport WX List]

```
-----------------------------------------------------------------------
LIMC --> LIRF    AY  1014 / 25APR2026
LIDO/WEATHER SERVICE       DATE : 25Apr2026   TIME : 17:41 UTC

AIRMETs:
  No Wx data available

SIGMETs:
  No Wx data available

Tropical Cyclone SIGMETs:
  No Wx data available

Volcanic Ash SIGMETs:
  No Wx data available

Departure:
LIMC/MXP  MALPENSA
  SA  251720  16003KT CAVOK 23/05 Q1013 NOSIG
  FT  251700  2518/2624 VRB05KT CAVOK

Destination:
LIRF/FCO  FIUMICINO
  SA  251720  28010KT CAVOK 18/11 Q1016 NOSIG
  FT  251700  2518/2624 28013KT CAVOK
              BECMG 2518/2520 VRB05KT
              BECMG 2609/2611 26012KT
              BECMG 2618/2620 VRB05KT

Destination Alternates:
LIRN/NAP  CAPODICHINO
  SA  251720  19006KT 140V240 CAVOK 18/13 Q1016 NOSIG
  FT  251700  2518/2618 19010KT CAVOK
              BECMG 2518/2520 VRB05KT
              BECMG 2610/2612 20010KT


  AIRPORTLIST ENDED
```

[NOTAM]

LIDO-NOTAM-BULLETIN INCLUDES NOTAM, COMP NOTAM AND AIP-REGULATION
VALID: 2604251810 - 2604252309 STD(EOBT)+TRIP+ALTN+3HRS
FIN 1014 /25APR OFP-NR: 1
ROUTE: LIMC - LIRF ALTN: LIRN
N0450F410 ROBAS5Z ROBAS DCT TINKU DCT XIBIL XIBIL3A

==========
DEPARTURE AIRPORT - DETAILED INFO
==========

LIMC/MXP MALPENSA

++++++++++++++++++++++++++++ AIRPORT ++++++++++++++++++++++++++++++

A1965/26
ACFT STAND 853 **CLSD** DUE TO **WIP**
RMK: ICAO SIGNALS PROVIDED
REF AIP **AD** 2 LIMC 2-11
A1960/26
ACFT STAND 602 **CLSD** DUE TO **WIP**
RMK: ICAO SGL PROVIDED
REF AIP **AD** 2 LIMC 2-9
A1923/26
SUP S9/26 'AD MILANO/MALPENSA (LIMC): EXTRAORDINARY MAINTENANCE
WORKS ON **RWY** 17R/35L' IN FORCE FM 16 MAR TO 10 JUN 2026.
CURRENT STATUS OF WORKING PHASES:
- PHASE 1: COMPLETED
- PHASE 2 ACT WITH FLW ADDN REGULATIONS:
1.RWY 17R/35L **CLSD**, DLA COULD BE EXPECTED FOR ALL TFC
2.NOISE ABATEMENT SCENARIOS.
NIGHT RESTRICTIONS WILL BE IN FORCE HR 2230-0400
WITHOUT ANY TIME TOLERANCE. DEP RWY17L, ARR RWY35R.
IN OTHER HR TKOF WILL BE AUTH ONLY FM RWY35R, TKOF FM RWY17L
WILL NOT BE AUTH FOR PERFORMANCE AND PAYLOAD REASONS.
3. FOLLOWING **TWY CLOSED**:
- APN **TWY** 'J'
- **TWY** 'GW'
- **TWY** 'GE' BTN **RWY 17R/35L** AND INTERMEDIATE HLDG PSN (IHP) 'GE1'
(EXCLUDED)
ICAO SGL PROVIDED.
TWY MAY BE **AVBL** IN 10 MINUTES ON ATS REQUEST ONLY.
4.TWY 'K' BTN APN **TWY** 'N' AND APN **TWY** 'T' (BOTH INCLUDED)
DOWNGRADED AND **AVBL** ONLY FOR ACFT WITH WINGSPAN UP TO 68.5M
5.LGT SYSTEM **RWY 17R/35L** ON TEST HR 0600-1600
- PHASE 3: NOT ACT YET
A1911/26
ACFT STAND 714 **CLSD** DUE TO **WIP**
RMK: ICAO SIGNALS PROVIDED
REF AIP **AD** 2 LIMC 2-11
A1866/26
RUNWAY GUARD LIGTHS (RGL) **CAT** II/III LOCATED ON **TWY** 'CA'
UNSERVICABLE
REF AIP **AD** 2 LIMC 2-1
A1865/26
ACFT STANDS 602 **CLSD** DUE TO **WIP**
RMK: ICAO SIGNALS PROVIDED
REF AIP **AD** 2 LIMC 2-9

A1848/26
SUP S9/26 'AD MILANO/MALPENSA (LIMC): EXTRAORDINARY MAINTENANCE
WORKS ON **RWY** 17R/35L' IN FORCE FM 16 MAR TO 10 JUN 2026.
CURRENT STATUS OF WORKING PHASES:
- PHASE 1: COMPLETED
- PHASE 2 ACT WITH FLW ADDN REGULATIONS:
1.RWY 17R/35L **CLSD**, DLA COULD BE EXPECTED FOR ALL TFC
2.NOISE ABATEMENT SCENARIOS.
NIGHT RESTRICTIONS WILL BE IN FORCE HR 2230-0400
WITHOUT ANY TIME TOLERANCE. DEP RWY17L, ARR RWY35R.
IN OTHER HR TKOF WILL BE AUTH ONLY FM RWY35R, TKOF FM RWY17L
WILL NOT BE AUTH FOR PERFORMANCE AND PAYLOAD REASONS.
3. FOLLOWING **TWY CLOSED**:
- APN **TWY** 'J'
- **TWY** 'GW'
- **TWY** 'GE' BTN **RWY 17R/35L** AND INTERMEDIATE HLDG PSN (IHP) 'GE1'
(EXCLUDED)
ICAO SGL PROVIDED.
TWY MAY BE **AVBL** IN 10 MINUTES ON ATS REQUEST ONLY.
4.TWY 'K' BTN APN **TWY** 'N' AND APN **TWY** 'T' (BOTH INCLUDED)
DOWNGRADED AND **AVBL** ONLY FOR ACFT WITH WINGSPAN UP TO 68.5M
- PHASE 3: NOT ACT YET

A1827/26
LOCAL FLIGHT RESTRICTIONS.
GENERAL AVIATION AND AIR TAXI FLT ACCEPTED ONLY FROM
0600-0800 AND 1400-1600, SUBJ PRIOR AUTHORIZATION
BY **AD** OPERATOR AND ACFT STANDS AVAILABILITY.
RMK:
- OUTSIDE ABOVE HOURS ONLY BASED FLT AUTHORIZED
BY **AD** OPERATOR, BUSTER AIR TRAFFIC (BAT), EMERGENCY
AND MEDICAL FLT ALLOWED
- HELICOPTER TFC NOT ALLOWED
REF AIP **AD** 2 LIMC 1-18

A1819/26
MARSHALLING ASSISTANCE MANDATORY FOR ALL MOV TOWARDS
ACFT STANDS 705, 713, 715 AND 718 DUE TO UNAVAILABILITY OF VISUAL
DOCKING/PARKING GUIDANCE SYSTEM
REF AIP **AD** 2 LIMC 1-20 AND 2-11

A1774/26
MARSHALLING ASSISTANCE MANDATORY FOR ALL MOV
TOWARDS ACFT STAND 708 DUE TO UNAVAILABILITY OF VISUAL
DOCKING/PARKING GUIDANCE SYSTEM
AD 2 LIMC 2 - 11

A1227/26
RVR DATA **RWY 35L NOT AVBL** DUE TO **WIP**
REF AIP GEN 3.5

A1237/26
VERTICAL SIGNALLING LIGHT INTERMEDIATE HLDG POSITION (IHP) 'Y2' ON
APN **TAXIWAY** 'Y' UNSERVICEABLE
REF AIP AD2 LIMC 2-11

A0737/26
OBST LGT UNSERVICEABLE
PSN COORD (WGS-84) 453852.8N 0084324.9E
ELEV AMSL 257.1M/843.5FT ELEV AGL 25.8M/84.6FT
REF AIP **AD** 2 LIMC 3-3

A0590/26
ACFT STAND 757 **CLOSED** DUE TO **WIP**.
RMK: ICAO SIGNALS PROVIDED.
REF AIP **AD** 2 LIMC 2-11

++++++++++++++++++++++ APPROACH PROCEDURES ++++++++++++++++++++++

A1235/26
INSTRUMENT LANDING SYSTEM (ILS) **RWY 35L** UNSERVICEABLE.
REF AIP **AD** 2 LIMC 1-16 AND AIRAC SUP S09/26
A6815/25
INSTRUMENT APCH PROCEDURE CHARTS:
- **ILS** Z RWY35L
- RNP RWY35L
- **ILS** Z RWY35R
- RNP RWY35R
- **ILS** OR **LOC** Z RWY17L
- **ILS** OR **LOC** Y RWY17L
- **VOR** RWY17L
- RNP Z RWY17L
- RNP Y RWY17L
- RNP Z RWY17R
- RNP Y RWY17R

ALL VALUES OF MOCA (MINIMUM OBSTACLE CLEARANCE ALTITUDE) IN PROFILE VIEW SHALL BE RAISED TO THE LOWER ALTITUDE OF THE RELATED SEGMENT OF THE PROCEDURE.
REF AIP **AD** 2 LIMC 5-3, 5-9, 5-15, 5-21, 5-27, 5-31, 5-33, 5-37, 5-41, 5-45 AND 5-49

==========
DESTINATION AIRPORT - DETAILED INFO
==========

LIRF/FCO FIUMICINO

++++++++++++++++++++++++++++ AIRPORT ++++++++++++++++++++++++++++

A1967/26
ACFT STAND '509' **CLOSED**.
RMK: ICAO SGL PROVIDED
REF AIP **AD** 2 LIRF 2-7
A1962/26
LATINA **VOR/DME** 'LAT' 111.20MHZ CH 49X
REMOTE STATUS INDICATOR **NOT AVAILABLE**.
REF AIP **AD** 2 LIRF 1-24
A1924/26
ACFT STANDS 610 AND 611 **CLSD**
RMK: ICAO SIGNALS PROVIDED
REF AIP **AD** 2 LIRF 2-7
A1043/26
TRIGGER NOTAM-PERM AIP AIRAC AMDT 4/26 EFFECTIVE DATE 16 APR 2026
ROMA/FIUMICINO **AD**
UPDATE OF THE FOLLOWING AERODROME CARTOGRAPHY:
-LOW VISIBILITY PROCEDURES CHART
-HOTSPOT MAP
-AIRCRAFT PARKING DOCKING CHART AND REMARKS
CHG OF INFO PUBLISHED IN **AD** 2 SECTION, PAGES 1-1 AND FLW
AIRAC IS POSTED AND **AVBL** ON WEBSITE WWW.ENAV.IT

A1803/26
SUP (S16/26) IN FORCE FM 19 MAR 2026 TO 31 MAR 2027
'AD ROMA/FIUMICINO (LIRF) : TEMPORARY CRANES AND VARIATION OF OCA (OCH)'.
TEMPORARY CRANES PENETRATING HINNER HORIZONTAL SURFACE WILL BE ERECTED AS FLW:
- CRANES 5, 6, 7, 8, 9 AND 11.
RMK: THE PRESENCE OF CRANE RESULTS IN RAISED MINIMUM ALTITUDES AND PROCEDURES AS DESCRIBED IN THE SUPPLEMENT
REF AIP **AD** 2 LIRF 3-7 AND SUP S16/26

A1777/26
OPERATIONAL TRIAL CRITERIA FOR **RUNWAY** SELECTION AND THEIR USE.
IN ORDER TO CHANGE THE **RUNWAY** CONFIGURATION FROM THE PREFERENTIAL ONE, ATC WILL CONSIDER THE FOLLOWING ITEMS:
- **RWY** AND **TWY** AVAILABILITY,
- INSTRUMENT APPROACH PROCEDURES AND AVAILABILITY OF APPROACH AND LANDING AIDS,
- SIGNIFICANT METEOROLOGICAL CONDITIONS (SURFACE TAILWIND COMPONENT EXCEEDING 8 KNOTS OF STEADY WIND FOR AT LEAST 10 MINUTES EXCLUDING GUSTS, SURFACE CROSSWIND COMPONENT EXCEEDING 30 KNOTS, EXCLUDING GUSTS, WINDSHEAR REPORTED OR FORECAST, THUNDERSTORMS THAT MAY AFFECT THE APPROACH OR DEPARTURE PHASES, WET **RUNWAY** CONDITIONS
OR POOR BRAKING ACTION)
- THE SURFACE WIND COMPONENTS ARE NOT TO BE INTENDED AS OPERATIONAL LIMITS, BUT RATHER AS GUIDELINES FOR ATC **RUNWAY** SELECTION
- THE **RUNWAY** CONFIGURATION IN USE 34R MAY BE CHANGED TO CONFIGURATION 16L WHEN THE SURFACE WIND COMPONENT FROM THE NORTHERN QUADRANTS IS FOR AT LEAST 10 MINUTES STEADILY BELOW 8 KNOTS.
- IT SHOULD BE NOTED THAT WHILE THE TWR PREPARES THE NEW **RUNWAY** CONFIGURATION BASED ON THE CONDITIONS, THE ACTUAL CHANGE OF CONFIGURATION MAY TAKE PLACE LATER, WHEN CURRENT TRAFFIC CONDITIONS PERMIT.
REF AIP AD2 LIRF 1-26 ITEM 20 POINT 1.2 PARAGRAPH D

A1683/26
ACFT STANDS 835 AND 836 **CLOSED**.
REF AIP **AD** 2 LIRF 2-7

A1661/26
AD OPERATOR, ON TRIAL BASE AND TO IMPROVE SITUATIONAL AWARENESS, WILL CARRY OUT VEHICLE **RWY** SAFETY INSPECTION PERFORMING GROUND TO GROUND COMMUNICATION ON TWR FREQ ASSOCIATED WITH OPS FOR EACH **RWY**.
RMK: RADIOTELEPHONY CALL SIGN ASSIGNED TO **AD** OPERATOR WILL BE 'SAR' FOLLOWED BY TWO DIGIT NUMBERS.
REF AIP **AD** 2 LIRF 1-23

A1538/26
AERODROME CONTROL SERVICE.
GROUND MOVEMENT CONTROL RWY16L/34R PROVIDED BY USE OF MULTILATERATION AND ADS-B DUE TO UNAVAILABIILITY OF SMR FOR MAINT. REF AIP **AD** 2 LIRF 1-34

A1503/26
NEW TREE OBSTACLE ERECTED PENETRATING APPROACH **RWY 16R** AS FLW :
- PSN (WGS84) 414970.7N 0121321.4E
ELEV AGL 19.0M/62.3FT AMSL 19.0M/62.3FT
REF AIP **AD** 2 LIRF 3-7

A1502/26
NEW POLE OBST ERECTED PENETRATING TAKE-OFF FLIGHT PATH AREA (TOFPA) RWY16L AS FLW:
PSN COORD (WGS-84): 414832.0N 0121633.4E
ELEV AGL 6.0M/19.7FT
ELEV AMSL 7.0M/23.0FT
REF AIP **AD** 2 LIRF 3-7

A1501/26
NEW POLE OBSTACLE ERECTED PENETRATING TAKE-OFF FLIGHT PATH AREA (TOFPA) AND TAKE-OFF CLIMB SURFACE (TOCS) RWY25 AS FLW:
- PSN (WGS84) 414752.4N 0121348.7E
ELEV AGL 5.0M/16.4FT
ELEV AMSL 5.0M/16.4FT
REF AIP **AD** 2 LIRF 3-7

A1500/26
NEW POLE OBST ERECTED PENETRATING TAKE-OFF FLIGHT PATH AREA (TOFPA) RWY34L AS FLW:
PSN COORD (WGS-84): 414950.8N 0121327.1E
ELEV AGL 5.0M/16.4FT
ELEV AMSL 6.0M/19.7FT
PSN COORD (WGS-84): 414960.9N 0121330.3E
ELEV AGL 7.0M/23.0FT
ELEV AMSL 7.0M/23.0FT
REF AIP **AD** 2 LIRF 3-7

A1499/26
NEW POLE OBSTACLE ERECTED PENETRATING TAKE-OFF FLIGHT PATH AREA (TOFPA) RWY16R AS FLW:
- PSN (WGS84) 414620.4N 0121436.1E
ELEV AGL 19.0M/62.3FT, AMSL 20.0M/65.6FT
REF AIP **AD** 2 LIRF 3-7

A1498/26
NEW TREE OBSTACLE ERECTED PENETRATING TAKE-OFF FLIGHT PATH AREA (TOFPA) , TAKE-OFF CLIMB SURFACE (TOCS) RWY16R AND APPROACH **RWY** 34L AS FLW:
- PSN (WGS84) 414623.1N 0121438.0E
ELEV AGL 23.0M/75.4FT AMSL 24M/78.7FT
REF AIP **AD** 2 LIRF 3-7

A1497/26
NEW ANTENNA OBSTACLES ERECTED PENETRATING TAKE-OFF FLIGHT PATH AREA (TOFPA) RWY16R AS FLW:
- PSN (WGS84) 414630.5N 0121432.1E
ELEV AGL 11.0M/36.1FT, AMSL 13.0M/42.6FT
- PSN (WGS84) 414641.2N 0121425.4E
ELEV AGL 7.0M/22.9FT, AMSL 9.0M/29.5FT
REF AIP **AD** 2 LIRF 3-7

A1496/26
NEW TREE OBSTACLE ERECTED PENETRATING TAKE-OFF FLIGHT PATH AREA (TOFPA) AND TAKE-OFF CLIMB SURFACE (TOCS) RWY34L AS FLW:
- PSN (WGS84) 414913.9N 0121330.1E
ELEV AGL 12.0M/39.3FT
ELEV AMSL 12.0M/39.3FT
REF AIP **AD** 2 LIRF 3-7

A1495/26
NEW POLE OBSTACLE ERECTED PENETRATING TAKE-OFF FLIGHT PATH AREA (TOFPA) RWY34R AS FLW:
- PSN (WGS84) 415117.1N 0121536.1E
ELEV AGL 11.0M/36.1FT, AMSL 20.0M/65.6FT
REF AIP **AD** 2 LIRF 3-7

A1494/26
NEW BUILDING OBSTACLES ERECTED PENETRATING TAKE-OFF FLIGHT PATH AREA (TOFPA) RWY34R AS FLW:
- PSN (WGS84) 415113.9N 0121537.4E
ELEV AGL 8.0M/26.2FT, ELEV AMSL 17.0M/55.7FT
- PSN (WGS84) 415120.3N 0121535.9E
ELEV AGL 11.0M/36.1FT, ELEV AMSL 21.0M/68.8FT
- PSN (WGS84) 415120.5N 0121534.6E
ELEV AGL 9.0M/29.5FT, ELEV AMSL 19.0M/62.3FT
REF AIP **AD** 2 LIRF 3-7

A1493/26
NEW TREE OBSTACLE ERECTED PENETRATING TAKE-OFF FLIGHT PATH AREA (TOFPA) RWY16L AS FLW:
- PSN (WGS84) 414821.5N 0121649.0E
ELEV AGL 14.0M/45.9FT
ELEV AMSL 15.0M/49.2FT
REF AIP **AD** 2 LIRF 3-7

A1492/26
NEW TREE OBSTACLE ERECTED PENETRATING TAKE-OFF FLIGHT PATH AREA (TOFPA) RWY07 AS FLW:
- PSN (WGS84) 414849.7N 0121655.1E
ELEV AGL 14.0M/45.9FT, AMSL 15.0M/49.2FT
REF AIP **AD** 2 LIRF 3-7

A1491/26
NEW POLE OBSTACLES ERECTED PENETRATING TAKE-OFF FLIGHT PATH AREA (TOFPA) RWY07 AS FLW:
- PSN (WGS84) 414934.2N 0121939.3E
ELEV AGL 24.0M/78.7FT, AMSL 69.0M/226.3FT
- PSN (WGS84) 414942.5N 0121937.8E
ELEV AGL 24.0M/78.7FT, AMSL 74.0M/242.7FT
- PSN (WGS84) 414948.3N 0121936.1E
ELEV AGL 24.0M/78.7FT, AMSL 74.0M/242.7FT
REF AIP **AD** 2 LIRF 3-7

A1229/26
ANEMOMETER THR RWY07 COMPLETELY **WITHDRAWN**.
DELIVERED WIND DATA FOR THR RWY07 ARE THOSE DETECTED BY ANEMOMETER THR RWY34L
REF AIP GEN 3.5-29

A1022/26
LATINA **VOR/DME** 'LAT' FREQ 111.20 MHZ CH 49X:
- **VOR**
LIMITATIONS BEYOND 15 NM RDL 018 NU
LIMITATIONS BEYOND 29 NM WITHIN 35 NM RDL 024 MRA 14000 FT
LIMITATIONS AT 25 NM
005DEG/110DEG NU
110DEG/130DEG MRA 5000 FT
130DEG/290DEG MRA 2500 FT
290DEG/330DEG MRA 5000 FT
330DEG/005DEG MRA 10000FT
- **DME**
LIMITATIONS BEYOND 15 NM RDL 018 NU
LIMITAZIONI OLTRE/LIMITATIONS BEYOND 17 NM RDL 024 NU
LIMITATIONS AT 25 NM
-005DEG/110DEG NU
-110DEG/130DEG MRA 5000 FT
-130DEG/290DEG MRA 2500 FT
-290DEG/330DEG MRA 5000 FT
-330DEG/005DEG MRA 10000FT
REF AIP **AD** 2 LIRF 1-25 'RADIO NAVIGATION AND LANDING AIDS', COLUMN 7 'DESIGNATED OPERATIONAL COVERAGE LIMITATIONS'

A0615/26
OBSTACLE TREE PENETRATING VISUAL SEGMENT SURFACE **RWY 16R**:
PSN COORD (WGS-84) 414907.3N 0121319.4E
MAX ELEV AMSL 18.2M/59.7FT
VISUAL SEGMENT SURFACE PENETRATION (VSS) 2.6M/8.5FT
REF AIP **AD** 2 LIRF 3-7 (AOC TYPE B NR RF 4/7
A0445/26
NEW OBST MOBILE CRANE ERECTED PENETRATING
INNER HORIZONTAL SURFACE PSN COORD (WGS-84):
414741.5N 0121738.7E
MAX ELEV AGL 45.3M/148.6FT
MAX ELEV AMSL 47.6M/156.2FT
REF AIP AD2 LIRF 3-7 (AOC TYPE B NR RF 4/7

++++++++++++++++++++++++++++++ SID ++++++++++++++++++++++++++++++

A1419/26
SID NORTH AND WEST BOUND 'VELAD 1A'
TO BE CONSIDERED ATC DISCRETION
REF AIP AD2 LIRF 6-37/40

++++++++++++++++++++++ APPROACH PROCEDURES ++++++++++++++++++++++

A1887/26
OUTER MARKER (ILS) RWY16L
INFORMATION ON OPERATIONAL STATUS **NOT AVBL**
REF AIP AD2 LIRF 1-23
A1874/26
OUTER MARKER (ILS) RWY16R. INFORMATION ON OPERATIONAL STATUS NOT
AVBL.
REF AIP AD2 LIRF 1-23
A1739/26
INSTRUMENT APPROACH PROCEDURE **VOR** RWY16R
NEW TREE OBSTACLE PENETRATING VSS VISUAL SEGMENT
SURFACE **AD** FLW:
PSN (WGS84) 414907.8N0121321.4E
ELEV AMSL 19.0M/62.3FT
REF AIP **AD** 2 LIRF 5-19
A1738/26
INSTRUMENT APPROACH PROCEDURE RNP RWY16R
NEW TREE OBSTACLE PENETRATING LNAV AND LNAV/VNAV
VSS VISUAL SEGMENT SURFACE
- PSN (WGS84) 414907.8N0121321.4E
ELEV AMSL 19.0M/62.3FT
REF AIP **AD** 2 LIRF 5-15
A1737/26
INSTRUMENT APPROACH PROCEDURE RNP RWY34R
LPV MINIMA **CAT** D OCA/H TO READ 270/264FT
DUE TO NEW OBSTACLE CRANE ERECTED
REF AIP **AD** 2 LIRF 5-31
A0899/26
SUP S16/26 'TEMPORARY CRANES AND VARIATION OF OCA (OCH)'
IN FORCE FM 19 MAR 2026 TO 31 MAR 2027.
INSTRUMENT APCH PROCEDURE CHART:
- RNP **RWY 25**
ALL VALUES OF MOCA (MINIMUM OBSTACLE CLEARANCE ALTITUDE) IN
PROFILE VIEW SHALL BE RAISED TO THE LOWER ALTITUDE OF THE RELATED
SEGMENT OF THE PROCEDURE

A6814/25
INSTRUMENT APCH PROCEDURE CHART:
- RNP RWY25
ALL VALUES OF MOCA (MINIMUM OBSTACLE CLEARANCE ALTITUDE) IN PROFILE VIEW SHALL BE RAISED TO THE LOWER ALTITUDE OF THE RELATED SEGMENT OF THE PROCEDURE.
REF AIP **AD** 2 LIRF 5-45

==========
DESTINATION ALTERNATE AIRPORT(S)
==========

LIRN/NAP CAPODICHINO

++++++++++++++++++++++++++++ AIRPORT ++++++++++++++++++++++++++++++

A1964/26
MARSHALLING ASSISTANCE MANDATORY FOR ALL MOVEMENTS TOWARDS ACFT STAND 74 DUE TO UNAVAILABILITY OF VISUAL DOCKING PARKING GUIDANCE SYSTEM (A-VDGS).
REF AIP **AD** 2 LIRN 2-9 AND 2-12
A1882/26
PONZA **VORTAC** 'PNZ' FREQ 114.60MHZ CH 93X UNSERVICEABLE
REF AIP **AD** 2 LIRN 1-14
A1879/26
TEMPERATURE AND WIND DATA THR RWY24 **NOT AVBL** DUE TO TECR.
REF AIP GEN 3.5-22 AND **AD** 2 LIRN 1-11
A1585/26
FLW **TWY CLOSED** DUE TO **WIP**:
-TWY G
-TWY TS FROM **RUNWAY** HOLDING POSITION G TO **TWY F** (EXCLUDED)
RMK: ICAO SIGNAL PROVIDED
REF AIP **AD** 2 LIRN 2-1
A1524/26
RUNWAY THRESHOLD IDENTIFICATION LIGHT (RTIL) **RWY 06** UNSERVICEABLE
REF AIP **AD** 2 LIRN 1-10
A1518/26
ABN UNSERVICEABLE
REF AIP **AD** 2 LIRN 1-11
A1452/26
ACFT STAND 75 **CLOSED** DUE TO **WIP**
REF AIP **AD** 2 LIRN 2-9
A1428/26
FLW OBSTACLE LGT UNSERVICEABLE:
- PSN COORD (WGS-84) 405211.51N 0141308.93E ELEV AMSL 356.6M/1169.9FT ELEV AGL 84.9M/278.5FT
- PSN COORD (WGS-84) 405204.77N 0141454.36E ELEV AMSL 182.9M/600.1FT ELEV AGL 42.0M/137.8FT
- PSN COORD (WGS-84) 405038.75N 0141417.69E ELEV AMSL 283.6M/930.4FT ELEV AGL 58.6M/192.3FT
- PSN COORD (WGS-84) 405337.70N 0141639.19EELEV AMSL 132.6M/435.0FT ELEV AGL 47.5M/155.8FT
REF AIP **AD** 2 LIRN 3-3
A0992/26
ALL STOP BARS UNSERVICEABLE
REF AIP **AD** 2 LIRN 2-1

A0959/26
NEW-TIMING DETECTION SYSTEM (ON TRIAL) FOR AIR TRAFFIC FLOW MANAGEMENT (ATFM) PURPOSES.
AOBT (ACTUAL OFF BLOCKS TIMES) FOR ALL DEPARTING IFR FLIGHTS AND AIBT (ACTUAL IN BLOCKS TIMES) FOR ALL ARRIVAL IFR FLIGHTS.
ADS-B DATA REQUIRED FOR OPERATIONS.
FOR ADS-B DATA USED BY THE **AD** OPERATOR AND EUROCONTROL, PILOTS OF AIRCRAFT EQUIPPED WITH MODE S AND ADS-B FUNCTIONALITY MUST, WHEN OPERATING ON THE GROUND:
A) SELECT AUTOMATIC MODE AND THE ASSIGNED MODE A, OR
B) IF AUTOMATIC MODE IS **NOT AVAILABLE**, SELECT ON AND THE ASSIGNED MOD A
-FROM PUSH-BACK REQUEST.
-AFTER LANDING, UNTIL THE AIRCRAFT HAS REACHED PARKING STAND.
-ONCE THE AIRCRAFT IS PARKED, THE PILOT SHALL SELECT STANDBY.
REF AIP **AD** 2 LIRN 1-18

++++++++++++++++++++++ APPROACH PROCEDURES ++++++++++++++++++++++

A6816/25
INSTRUMENT APCH PROCEDURE CHARTS:
- **ILS** Z RWY24
- **ILS** OR **LOC** Y RWY24
- **ILS** OR **LOC** X RWY24
- RNP Z RWY24
- RNP Y RWY24 (LPV ONLY)
- **ILS** Z RWY06
- **ILS** OR **LOC** Y RWY06
- RNP RWY06

ALL VALUES OF MOCA (MINIMUM OBSTACLE CLEARANCE ALTITUDE) IN PROFILE VIEW SHALL BE RAISED TO THE LOWER ALTITUDE OF THE RELATED SEGMENT OF THE PROCEDURE.
REF AIP **AD** 2 LIRN 5-3, 5-5, 5-7, 5-9, 5-13, 5-17, 5-19 AND 5-21

==========
EXTENDED AREA AROUND DEPARTURE
==========

LIMM MILAN FIR/UIR

++++++++++++++++++++++++++++ FIR/UIR ++++++++++++++++++++++++++++

M2273/26
MILANO SCCAM FREQ 121.140MHZ **NOT AVBL** DUE TO TECR REF MILAIP ENR 2.1.1.1-5
E0941/26
MILANO SCCAM (ITALIAN AIR FORCE COORDINATION AND CONTROL SERVICE) FREQ 121.140MHZ **NOT AVBL** DUE TO TECR
REF AIP ENR 2.1.1.1-3
E0478/26
TRIGGER NOTAM-PERM AIP AIRAC AMDT 4/26 EFFECTIVE DATE 16 APR 2026
TRANSITION OF GENOVA APP SERVICES TO MILANO ACC
AIRAC IS POSTED AND **AVBL** ON WEBSITE WWW.ENAV.IT
E0479/26
TRIGGER NOTAM-PERM AIP AIRAC AMDT 4/26 EFFECTIVE DATE 16 APR 2026
ENR 2.1.1.1 'MILANO FIR/UIR'
CHG OF MILANO ACC FREQUENCIES
AIRAC IS POSTED AND **AVBL** ON WEBSITE WWW.ENAV.IT

E0480/26
TRIGGER NOTAM-PERM AIP AIRAC AMDT 4/26 EFFECTIVE DATE 16 APR 2026
ENR 2.1.2.15 'GENOVA CTR'
COMPLETE REVIEW
AIRAC IS POSTED AND **AVBL** ON WEBSITE WWW.ENAV.IT

E0482/26
TRIGGER NOTAM-PERM AIP AIRAC AMDT 4/26 EFFECTIVE DATE 16 APR 2026
ENR 2.1.1.4 MILANO CTA
IMPLEMENTATION OF THE FOLLOWING ZONES:
ZONE '32' - LANGHE
ZONE '33' - GOLFO DI GENOVA
ZONE '34' - MAR LIGURE
ZONE '35' - POLCEVERA
ZONE '36' - VALLE D'AVETO
ZONE '37' - TURCHINO
ZONE '38' - RIVIERA DI PONENTE
ZONE '39' - ROCCA LIVERNA
CHANGE OF LATERAL LIMITS OF THE FOLLOWINFG ZONES:
ZONE '4' - CINQUE TERRE
ZONE '7' - MONDOVI'
ZONE '9' - LIGURIA
ZONE '10' - PIEMONTE
CHANGE OF VERTICAL LIMITS OF THE FOLLOWING ZONES:
ZONE '24' - DON BOSCO
ZONE '26' - PINEROLO
AIRAC IS POSTED AND **AVBL** ON WEBSITE WWW.ENAV.IT

E0484/26
TRIGGER NOTAM-PERM AIP AIRAC AMDT 4/26 EFFECTIVE DATE 16 APR 2026
UPDATE OF GEN 4.1 SECTION 'AERODROME/HELIPORT CHARGES'
AIRAC IS POSTED AND **AVBL** ON WEBSITE WWW.ENAV.IT

E0835/26
MON-THU 1000-1100
CAMERI ATZ.
ATS COMMUNICATION FACILITIES 'CAMERI TWR' NOT PROVIDED.
REF AIP ENR 2.1.3-3

E0793/26
NIL NOTIFICATION.
AIP AMDT PUBLICATION DATE 02 APR 2026: NIL

E0646/26
MON-THU 0000-0530 2100-2359, FRI 0000-0530 1800-2359, SAT SUN H24,
EXC APR 06
ROMA SCCAM (ITALIAN AIR FORCE COORDINATION AND CONTROL SERVICE)
ATS NOT PROVIDED
RMK:
- DIFFERENT ATS OPENING TIME **AVBL** PN AT LEAST 5 WORKING DAYS TO:
SCCAMCIAMPINO.OPS(A)AERONAUTICA.DIFESA.IT
- SAR, EMERG, SECURITY AIR TRAFFIC AND UNMANNED ACTIVITY NOT
AFFECTED
- OPERATIONAL COORDINATION ASSURED H24
REF AIP ENR 2.1.1.2-4

E0651/26
MON-THU 0000-0530 2100-2359, FRI 0000-0530 1800-2359,, SAT SUN H24
EXC APR 06
MILANO SCCAM (ITALIAN AIR FORCE COOR AND CTL SER).
ATS NOT PROVIDED.
RMK:
- DIFFERENT ATS OPENING TIME **AVBL** PN AT LEAST 5 WORKING DAYS TO:
SCCAMCIAMPINO.OPS(AT)AERONAUTICA.DIFESA.IT
- EMERG AND SECURITY AIR TRAFFIC ACTIVITY NOT AFFECTED
- OPERATIONAL COORDINATION ASSURED H24
REF AIP ENR 2.1.1.2-3

E0660/26
MON-THU 0000-0530 2100-2359, FRI 0000-0530 1800-2359, SAT SUN H24
EXC APR 06
PADOVA SCCAM (ITALIAN AIR FORCE COOR AND CONTROL SERVICE)
ATS NOT PROVIDED.
RMK:
- DIFFERENT ATS OPENING TIME **AVBL** PN AT LEAST 5 WORKING DAYS TO:
SCCAMCIAMPINO.OPS(AT)AERONAUTICA.DIFESA.IT
- EMERG AND SECURITY AIR TRAFFIC NOT AFFECTED
- OPERATIONAL COORDINATION ASSURED H24
REF AIP ENR 2.1.1.1-19

E0669/26
MON-THU 0000-0530 1900-2359, FRI 0000-0530 1800-2359, SAT SUN H24,
EXC APR 06
BRINDISI SCCAM (ITALIAN AIR FORCE COORDINATION AND CONTROL
SERVICE) ATS NOT PROVIDED.
RMK: DIFFERENT ATS OPENING TIME **AVBL** PN AT LEAST 5 WORKING DAYS
TO: SCCAMCIAMPINO.OPS(AT)AERONAUTICA.DIFESA.IT
- EMERG AND SECURITY AIR TRAFFIC NOT AFFECTED
- OPERATIONAL COORDINATION ASSURED H24
REF AIP ENR 2.1.1.3-2

E0654/26
UNAUTHORIZED RADIO TRANSMISSIONS REPORTED ON SEVERAL ATS FREQ
WITHIN NORTH/NORTHEAST MILANO FIR AND ADJACENT AREA
ALONG SWITZERLAND BORDER / TRANSMISSIONS ARE NOT ATTRIBUTABLE TO
ANY ATS UNIT / PILOTS ARE ADVISED TO:
- DISREGARD ANY NON-STANDARD OR SUSPICIOUS CALLS
- VERIFY AUTHENTICITY OF ATS INSTRUCTIONS WHEN IN DOUBT
- MAINTAIN STRICT ADHERENCE TO ASSIGNED FREQUENCIES AND PROCEDURES
- REPORT ANY OCCURRENCE (INCLUDING TIME, POSITION AND FL)
TO THE ATS UNIT IN CONTACT

E0574/26
ITALIAN AIR CARRIERS AND CAPTAINS OF AIRCRAFT IN CHARGE OF
AIR SERVICES OPERATED BY CARRIERS HOLDING AN OPERATING LICENSE
ISSUED BY ITALY, WHETHER THEY ARE CONTRACTUAL CARRIERS AND/OR
OPERATING CARRIERS, OR PERFORMING AIR SERVICES THROUGH A WET LEASE
OR A CODESHARE AGREEMENT AS WELL AS FOR ANY FLIGHT MADE
WITH AN AIRCRAFT REGISTERED IN ITALY WHEN PLANNING FLIGHT
OPERATIONS SHALL TAKE INTO SERIOUS CONSIDERATION THE HAZARDOUS
SITUATION POSED WITHIN ADDIS ABEBA FIR (HAAA) FROM DEDICATED
ANTI AVIATION WEAPONRY IN THEIR RISK ASSESSMENTS AND ROUTING
DECISIONS ACCORDING TO EASA SAFETY DIRECTIVES

E0573/26
ENTRY, EXIT AND OVERFLIGHT OF ITALIAN AIRSPACE IS PROHIBITED FOR
ALL COMMERCIAL ACFT OPERATORS REGISTERED IN THE REPUBLIC OF
BELARUS INCLUDING AS A MARKETING CARRIER IN CODE SHARING OR
BLOCKSPACE ARRANGEMENTS, EXC FOR ACFT IN EMERGENCY, SAR AND FLT
FOR HUMANITARIAN PURPOSES, ACCORDING TO COUNCIL REGULATION OF
EUROPEAN UNION 907/2021 OF 4TH OF JUNE 2021
REF AIP GEN 1.2-1

E0572/26
UKRAINIAN CRISIS
ACCORDING TO EU REGULATION 833/2014, AS AMENDED BY EU REGULATION 2022/334, FOR ANY AIRCRAFT OPERATED BY RUSSIAN AIR CARRIERS, INCLUDING AS A MARKETING CARRIER IN CODE-SHARING OR BLOCKED-SPACE ARRANGEMENTS, OR FOR ANY RUSSIAN REGISTERED AIRCRAFT, OR FOR ANY NON-RUSSIAN-REGISTERED AIRCRAFT WHICH IS OWNED OR CHARTERED, OR OTHERWISE CONTROLLED BY ANY RUSSIAN NATURAL OR LEGAL PERSON, ENTITY OR BODY, IS PROHIBITED TO LAND IN, TAKE OFF FROM OR OVERFLY ITALIAN TERRITORY EXCEPT HUMANITARIAN, SAR AND LEASED AIRCRAFT ONE-WAY RETURN-FLIGHTS WITH THE PERMISSION OF THE APPROPRIATE ITALIAN AUTHORITIES AND IN CASE OF EMERGENCY LANDING OR EMERGENCY OVERFLIGHT.

E0571/26
ITALIAN AIR CARRIERS AND CAPTAINS OF AIRCRAFT IN CHARGE OF AIR SERVICES OPERATED BY CARRIERS HOLDING AN OPERATING LICENSE ISSUED BY ITALY, WHETHER THEY ARE CONTRACTUAL CARRIERS AND/OR OPERATING CARRIERS, OR PERFORMING AIR SERVICES THROUGH A WET LEASE OR A CODESHARE AGREEMENT AS WELL AS FOR ANY FLIGHT MADE WITH AN AIRCRAFT REGISTERED IN ITALY WHEN PLANNING FLIGHT OPERATIONS WITHIN JEDDAH FIR (OEJD) ARE RECOMMENDED TO EXERCISE ENHANCED **CAUTION** AND TO FOLLOW INSTRUCTIONS FROM SAUDI AUTHORITIES PROVIDING AIR TRAFFIC MANAGEMENT PAYING PARTICULAR ATTENTION TO RESTRICTIONS OR INTERDICTIONS PUBLISHED WITH VERY SHORT NOTICE AND TO EASA SAFETY DIRECTIVES.

E0570/26
ITALIAN AIR CARRIERS AND CAPTAINS OF AIRCRAFT IN CHARGE OF AIR SERVICES OPERATED BY CARRIERS HOLDING AN OPERATING LICENSE ISSUED BY ITALY, WHETHER THEY ARE CONTRACTUAL CARRIERS AND/OR OPERATING CARRIERS, OR PERFORMING AIR SERVICES THROUGH A WET LEASE OR A CODESHARE AGREEMENT AS WELL AS FOR ANY FLIGHT MADE WITH AN AIRCRAFT REGISTERED IN ITALY ARE RECOMMENDED TO AVOID KARTHOUM FIR (HSSS) AT ALL ALTITUDES ACCORDING TO EASA SAFETY DIRECTIVES.

E0568/26
ITALIAN AIR CARRIERS AND CAPTAINS OF AIRCRAFT IN CHARGE OF AIR SERVICES OPERATED BY CARRIERS HOLDING AN OPERATING LICENSE ISSUED BY ITALY, WHETHER THEY ARE CONTRACTUAL CARRIERS AND/OR OPERATING CARRIERS, OR PERFORMING AIR SERVICES THROUGH A WET LEASE OR A CODESHARE AGREEMENT AS WELL AS FOR ANY FLIGHT MADE WITH AN AIRCRAFT REGISTERED IN ITALY ARE RECOMMENDED TO AVOID HEIGHT BELOW 25000FT AGL IN MOGADISHU FIR (HCSM) ACCORDING TO EASA SAFETY DIRECTIVES.

E0569/26
ITALIAN AIR CARRIERS AND CAPTAINS OF AIRCRAFT IN CHARGE OF AIR SERVICES OPERATED BY CARRIERS HOLDING AN OPERATING LICENSE ISSUED BY ITALY, WHETHER THEY ARE CONTRACTUAL CARRIERS AND/OR OPERATING CARRIERS, OR PERFORMING AIR SERVICES THROUGH A WET LEASE OR A CODESHARE AGREEMENT AS WELL AS FOR ANY FLIGHT MADE WITH AN AIRCRAFT REGISTERED IN ITALY WHEN PLANNING FLIGHT OPERATIONS ARE RECOMMENDED TO AVOID LAHORE FIR (OPLR) AND KARACHI FIR (OPKR) BELOW HEIGHT 25000FT AGL MONITORING EASA SAFETY DIRECTIVES.

E0566/26
ITALIAN AIR CARRIERS AND CAPTAINS OF AIRCRAFT IN CHARGE OF AIR SERVICES OPERATED BY CARRIERS HOLDING AN OPERATING LICENSE ISSUED BY ITALY, WHETHER THEY ARE CONTRACTUAL CARRIERS AND/OR OPERATING CARRIERS, OR PERFORMING AIR SERVICES THROUGH A WET LEASE OR A CODESHARE AGREEMENT AS WELL AS FOR ANY FLIGHT MADE WITH AN AIRCRAFT REGISTERED IN ITALY ARE RECOMMENDED TO AVOID HEIGHT BELOW 15000FT ABOVE GROUND LEVEL IN YANGON FIR (VYYF) ENSURING ROBUST RISK ASSESSMENT ACCORDING TO EASA SAFETY DIRECTIVES.

E0567/26
ITALIAN AIR CARRIERS AND CAPTAINS OF AIRCRAFT IN CHARGE OF AIR SERVICES OPERATED BY CARRIERS HOLDING AN OPERATING LICENSE ISSUED BY ITALY, WHETHER THEY ARE CONTRACTUAL CARRIERS AND/OR OPERATING CARRIERS, OR PERFORMING AIR SERVICES THROUGH A WET LEASE OR A CODESHARE AGREEMENT AS WELL AS FOR ANY FLIGHT MADE WITH AN AIRCRAFT REGISTERED IN ITALY ARE RECOMMENDED TO EXERCISE ENHANCED **CAUTION** WHEN OVERFLYING OR OPERATING FLIGHTS TO TEL AVIV FIR (LLLL) IN PARTICULAR TO FOLLOW INSTRUCTIONS FROM ISRAELI AUTHORITIES AND TO PAY PARTICULAR ATTENTION TO RESTRICTIONS OR INTERDICTIONS PUBLISHED BY NOTAM WITH VERY SHORT NOTICE DUE TO POTENTIALLY FAST EVOLVING SITUATION AND EASA SAFETY DIRECTIVES.

E0565/26
ITALIAN AIR CARRIERS AND CAPTAINS OF AIRCRAFT IN CHARGE OF AIR SERVICES OPERATED BY CARRIERS HOLDING AN OPERATING LICENSE ISSUED BY ITALY, WHETHER THEY ARE CONTRACTUAL CARRIERS AND/OR OPERATING CARRIERS, OR PERFORMING AIR SERVICES THROUGH A WET LEASE OR A CODESHARE AGREEMENT AS WELL AS FOR ANY FLIGHT MADE WITH AN AIRCRAFT REGISTERED IN ITALY ARE RECOMMENDED TO AVOID PLANNING FLIGHT OPERATIONS IN SANAA FIR (OYSC) AND SOUTHERN RED SEA AT ALL ALTITUDES ENSURING ROBUST RISK ASSESSMENT ACCORDING TO EASA SAFETY DIRECTIVES.

E0564/26
ITALIAN AIR CARRIERS AND CAPTAINS OF AIRCRAFT IN CHARGE OF AIR SERVICES OPERATED BY CARRIERS HOLDING AN OPERATING LICENSE ISSUED BY ITALY, WHETHER THEY ARE CONTRACTUAL CARRIERS AND/OR OPERATING CARRIERS, OR PERFORMING AIR SERVICES THROUGH A WET LEASE OR A CODESHARE AGREEMENT AS WELL AS FOR ANY FLIGHT MADE WITH AN AIRCRAFT REGISTERED IN ITALY ARE RECOMMENDED TO AVOID BAGHDAD FIR (ORBB) ACCORDING TO EASA SAFETY DIRECTIVES.

E0563/26
ITALIAN AIR CARRIERS AND CAPTAINS OF AIRCRAFT IN CHARGE OF AIR SERVICES OPERATED BY CARRIERS HOLDING AN OPERATING LICENSE ISSUED BY ITALY, WHETHER THEY ARE CONTRACTUAL CARRIERS AND/OR OPERATING CARRIERS, OR PERFORMING AIR SERVICES THROUGH A WET LEASE OR A CODESHARE AGREEMENT AS WELL AS FOR ANY FLIGHT MADE WITH AN AIRCRAFT REGISTERED IN ITALY ARE RECOMMENDED TO OPERATE WITHIN AIRSPACE OF LEBANON FIR BEIRUT (OLBB) ACCORDING TO EASA SAFETY DIRECTIVES ENSURING A ROBUST RISK ASSESSMENT.

E0562/26
ITALIAN AIR CARRIERS AND CAPTAINS OF AIRCRAFT IN CHARGE OF AIR SERVICES OPERATED BY CARRIERS HOLDING AN OPERATING LICENSE ISSUED BY ITALY, WHETHER THEY ARE CONTRACTUAL CARRIERS AND/OR OPERATING CARRIERS, OR PERFORMING AIR SERVICES THROUGH A WET LEASE OR A CODESHARE AGREEMENT AS WELL AS FOR ANY FLIGHT MADE WITH AN AIRCRAFT REGISTERED IN ITALY ARE RECOMMENDED TO AVOID AIRSPACE NORTH KOREA (FIR PYONGYANG ZKKP) DUE TO POTENTIAL RISK FROM BALLISTIC MISSILES

E0561/26
ITALIAN AIR CARRIERS AND CAPTAINS OF AIRCRAFT IN CHARGE OF AIR SERVICES OPERATED BY CARRIERS HOLDING AN OPERATING LICENSE ISSUED BY ITALY, WHETHER THEY ARE CONTRACTUAL CARRIERS AND/OR OPERATING CARRIERS, OR PERFORMING AIR SERVICES THROUGH A WET LEASE OR A CODESHARE AGREEMENT AS WELL AS FOR ANY FLIGHT MADE WITH AN AIRCRAFT REGISTERED IN ITALY WHEN PLANNING FLIGHT OPERATIONS SHALL AVOID OPERATIONS IN AFGHANISTAN FIR (OAKX) BELOW HEIGHT 25000 FEET AGL AND ACCORDING TO EASA SAFETY DIRECTIVES. RMK: AIRWAY P500 G500 NOT AFFECTED.

E0560/26
ITALIAN AIR CARRIERS AND CAPTAINS OF AIRCRAFT IN CHARGE OF
AIR SERVICES OPERATED BY CARRIERS HOLDING AN OPERATING LICENSE
ISSUED BY ITALY, WHETHER THEY ARE CONTRACTUAL CARRIERS AND/OR
OPERATING CARRIERS, OR PERFORMING AIR SERVICES THROUGH A WET LEASE
OR A CODESHARE AGREEMENT AS WELL AS FOR ANY FLIGHT MADE
WITH AN AIRCRAFT REGISTERED IN ITALY ARE REQUESTED TO AVOID
MINSK FIR UMMV. FOREIGN AIR CARRIERS INBOUND EU ARE RECOMMENDED TO
AVOID MINSK FIR (UMMV) ACCORDING TO EASA SAFETY DIRECTIVES

E0559/26
ITALIAN AIR CARRIERS AND CAPTAINS OF AIRCRAFT IN CHARGE OF AIR
SERVICES OPERATED BY CARRIERS HOLDING AN OPERATING LICENSE ISSUED
BY ITALY, WHETHER THEY ARE CONTRACTUAL CARRIERS AND/OR OPERATING
CARRIERS, OR PERFORMING AIR SERVICES THROUGH A WET LEASE OR A
CODESHARE AGREEMENT AS WELL AS FOR ANY FLIGHT MADE WITH AN
AIRCRAFT REGISTERED IN ITALY ARE RECOMMENDED TO AVOID OIIX FIR AND
ENSURE THAT A ROBUST RISK ASSESSMENT IS IN PLACE TOGETHER WITH A
HIGH LEVEL OF CONTINGENCY PLANNING IN WHOLE MIDDLE EAST ACCORDING
TO
EASA SAFETY DIRECTIVES.

E0557/26
ITALIAN AIR CARRIERS AND CAPTAINS OF AIRCRAFT IN CHARGE OF AIR
SERVICES OPERATED BY CARRIERS HOLDING AN OPERATING LICENSE
ISSUED BY ITALY, WHETHER THEY ARE CONTRACTUAL CARRIERS AND/OR
OPERATING CARRIERS, OR PERFORMING AIR SERVICES THROUGH A WET LEASE
OR A CODESHARE AGREEMENT AS WELL AS FOR ANY FLIGHT MADE WITH AN
AIRCRAFT REGISTERED IN ITALY ARE RECOMMENDED TO AVOID PORTIONS OF
DAKAR FIR (GOOO) AND NIAMEY FIR (DRRR) WITHIN TERRITORY AND
AIRSPACE OF MALI BELOW HEIGHT 25000FT AGL AND ACCORDING TO EASA
SAFETY DIRECTIVES.

E0558/26
ITALIAN AIR CARRIERS AND CAPTAINS OF AIRCRAFT IN CHARGE OF
AIR SERVICES OPERATED BY CARRIERS HOLDING AN OPERATING LICENSE
ISSUED BY ITALY, WHETHER THEY ARE CONTRACTUAL CARRIERS AND/OR
OPERATING CARRIERS, OR PERFORMING AIR SERVICES THROUGH A WET LEASE
OR A CODESHARE AGREEMENT AS WELL AS FOR ANY FLIGHT MADE WITH
AN AIRCRAFT REGISTERED IN ITALY SHALL NOT ENTER UIR KYIV UKBU, FIR
LVIV UKLV, FIR KYIV UKBV, FIR DNIPROPETROVSK UKDV,
FIR SIMFEROPOL UKFV, FIR ODESA UKOV, FIR ROSTOV NA DONU URRV. SAID
OPERATORS AND AIRCRAFT OWNERS SHALL ALSO AVOID FLIGHT OPS WITHIN
BUFFER ZONE EXTENDED OUT 200NM ALONG UKRAINE RUSSIA BORDER. FLIGHT
OPS WITHIN CHISHINAU FIR LUUU SHALL ONLY BE UNDERTAKEN
IN COMPLIANCE WITH AERONAUTICAL PUBLICATIONS
ISSUED BY REPUBLIC OF MOLDOVA. OPERATORS ARE ALSO REMINDED
THAT FLIGHT OPS WITHIN MINSK FIR UMMV ARE PROHIBITED AND
THAT ADDITIONAL RISK ASSESSMENT AND FLIGHT PLANNING DECISIONS
SHALL BE TAKEN BEFORE OPERATING IN FIR UUWV, FIR ULLL, FIR USSV,
FIR UWWW IN ACCORDANCE WITH EASA SAFETY DIRECTIVES

E0556/26
ITALIAN AIR CARRIERS AND CAPTAINS OF AIRCRAFT IN CHARGE OF
AIR SERVICES OPERATED BY CARRIERS HOLDING AN OPERATING LICENSE
ISSUED BY ITALY, WHETHER THEY ARE CONTRACTUAL CARRIERS AND/OR
OPERATING CARRIERS, OR PERFORMING AIR SERVICES THROUGH A WET LEASE
OR A CODESHARE AGREEMENT AS WELL AS FOR ANY FLIGHT MADE
WITH AN AIRCRAFT REGISTERED IN ITALY WHEN PLANNING FLIGHT
OPERATIONS ARE RECOMMENDED TO AVOID DAMASCUS FIR (OSTT)
AT ALL ALTITUDES ACCORDING TO EASA SAFETY DIRECTIVES

E0284/26
PADOVA SCCAM (ITALIAN AIR FORCE COOR AND CTL SERVICE)
FREQ 123.175MHZ **NOT AVBL** DUE TO TECR
REF AIP ENR 2.1.1.1-19

E0133/26
ADDRESSING OF FLIGHT PLAN MESSAGES:
-FPL AND ASSOCIATED MSG FOR GENERAL AIR TFC DEP FM AN AERODROME UNDER ENAV S.P.A. (ITALIAN AGENCY FOR AIR NAVIGATION SERVICES) JURISDICTION IN VFR OR MIXED FLIGHT RULES (Z), SHALL BE ADDRESSED ONLY TO ARO-CBO ITALY (ATS REPORTING OFFICE WITH CENTRAL BRIEFING CAPABILITIES) - LIRFZPZX, WHICH WILL BE RESPONSIBLE FOR THEIR VALIDATION AND DISTRIBUTION TO APPROPRIATE ATS UNIT.
-AFTN ADDRESS LIIRZEZX SHALL BE ADDED TO THE LIST OF RECIPIENTS OF FPL AND ASSOCIATED MSG FOR VFR OR MIXED FLIGHT RULES (Y OR Z) TFC PLANNING TO FLY ONLY IN VFR WI ITALIAN FIR.
REMARK:
FPL RELATED TO EACH VFR AND/OR MIXED FLIGHT RULES (Z) STAGE OF A FLIGHT THROUGH INTERMEDIATE STOPS SHALL BE ADDRESSED SOLELY TO THE ARO ASSOCIATED TO THE DEPARTURE AERODROME OF THAT STAGE.
REF AIP ENR 1.11-1

E0187/26
THE EQUIPMENT REQUIRED TO OVERFLY THE ITALIAN TERRITORY IN NIGHT VFR SHALL INCLUDE AT LEAST:
- SSR TRANSPONDER MODE A AND C
- ONE RADIO EQUIPMENT TO MAINTAIN TWO-WAY COMMUNICATION WITH ATS UNITS
- ELT(S) OR ELT(A) EQUIPMENT
REF AIP ENR 1.2-5 (PARAGRAPH ENR 1.2.1.6 'NIGHT VFR' POINT G

E0161/26
HLLB/BENGASI **AD**
SHALL BE ADDED TO THE LIST OF **AD** FOR WHICH
SPECIFIC PROVISIONS REGARDING TFC TO/FM LIBYA ARE NOT TO BE APPLIED.
REF AIP GEN 1.2-7 ITEM 1.2.3 'REGULATION ON NON-SCHEDULED AIR SERVICES BETWEEN EU AND THIRD COUNTRIES'
ITEM 1.2.3.1 'SPECIFIC PROVISIONS REGARDING TFC TO/FM LIBYA'

E0088/26
PISA CTR.
PSR/SSR MAINTENANCE CHG:
EVERY MON 0800-1000 (0700-0900), IF VMC ONLY.
REF AIP ENR 2.1.2.35-3

E2763/25
ULTRA LIGHT MACHINE ACTIVITY (ULM) 'CAORLE AREA'
LATERAL LIMITS CHG AS LINE JOINING FLW POINT:
453900N0124605E-4539N0125000E-453523N0124959E-453453N0124029E-453616N0123827E-453741N0123909E-453859N0123601E-454046N0123847E-454016N0124219E
THEN ARC OF CIRCLE IN COUNTERCLOCKWISE **DIRECTION** RADIUS 3.0 NM CENTRED ON 454159N0124549E TILL TO POINT OF ORIGIN.
REF AIP ENR 5.5.4-2
F) SFC G) 500FT AGL

E1428/25
FIREFIGHTING ACTIVITY IS REGULATED AS FLW:
-AIRCRAFT NOT INVOLVED IN FIREFIGHTING OPERATIONS MUST NOT FLY OVER THE FIRE AREA AND MUST EXERCISE EXTREME **CAUTION** WHEN FLYING NEAR IT, CONSIDERING THE POSSIBLE INTERVENTION OF FIREFIGHTING ACFT.
THEREFORE, WHEN AN AERIAL FIREFIGHTING OPERATION IS ANNOUNCED/ACTIVE, IT IS PROHIBITED TO FLY IN THE ZONES IDENTIFIED BY THE FIRE-FIGHTING AUTHORITIES AND NOTIFIED BY THE COMPETENT AUTHORITY OR, IN THE ABSENCE OF SPECIFIC PROVISIONS:
I. WITHIN CONTROLLED AIRSPACE, IN THE ABSENCE OF SPECIFIC COMMUNICATIONS ABOUT THE AREA AFFECTED BY THE FIREFIGHTING OPERATIONS FROM THE ENGAGED ACFT, BELOW 760M (2500FT) AGL WITHIN AN AREA EXTENDING UP TO A HORIZONTAL DISTANCE OF 4KM (2 NM) FROM THE FIRE
II. OUTSIDE CONTROLLED AIRSPACE, BELOW 900M (3000FT) AGL, WITHIN AN AREA EXTENDING UP TO A HORIZONTAL DISTANCE OF 9KM (5NM) FROM THE FIRE.
-TIMELY UPDATES REGARDING THE ZONES AND AREAS AFFECTED CAN BE BROADCAST ON GROUND/AIR/GROUND FREQUENCIES.
PART 1 OF 2

-THE ENGAGED FIREFIGHTING AIRCRAFT KEEP THE ATS UNIT RESPONSIBLE FOR THE AFFECTED AREA INFORMED ABOUT THE FIREFIGHTING OPERATIONS AND THEIR CONCLUSION.
-THE ATS UNIT RESPONSIBLE FOR THE AREA AFFECTED BY THE FIREFIGHTING OPERATIONS PROVIDES AIR TRAFFIC SERVICES, AS FAR AS POSSIBLE:
1.TO THE AIRCRAFT ENGAGED IN FIREFIGHTING OPERATIONS, EXCEPT IN THE FIREFIGHTING AREA WHERE IT PROVIDES ONLY FLIGHT INFORMATION AND ALERT SERVICES.
RMK: IF A CTR IS AFFECTED BY THE FIRE, SID/STAR/INSTR APCH PROC COULD BE TEMPORARILY **SUSPENDED** OR MODIFIED
2.TO OTHER GAT FLIGHTS, BASED ON THE INFORMATION **AVAILABLE** REGARDING THE FIREFIGHTING ACTIVITY, WHICH MAY STILL BE INCOMPLETE.
REF AIP ENR 1.1.1.4 'POLICE, CUSTOMS AND PATROL FLIGHTS ENGAGED IN URGENCY MISSIONS', PARAGRAPH C 'FIREFIGHTING'
PART 2 OF 2

++++++++++++++++++++++++++++ WAYPOINT ++++++++++++++++++++++++++++

E0485/26
TRIGGER NOTAM-PERM AIP AIRAC AMDT 4/26 EFFECTIVE DATE 16 APR 2026
ENR 4.4 NAME-CODE DESIGNATORS FOR SIGNIFICANT POINTS
REVIEW AND IMPLEMENTATION OF THE FOLLOWING POINTS:
-ITCAP
-RUCFO
-GACBE
-ICFEB
-ICHAV
-UDMAC
WITHDRAWAL OF THE FOLLOWING POINTS:
-BARMO
-GIKUT
-PIKOT
-RIVAP
-TIGLO
-VARAP
AIRAC IS POSTED AND **AVBL** ON WEBSITE WWW.ENAV.IT

E0236/26
ITALIAN FREE ROUTE AIRSPACE (FRAIT) RELEVANCE OF UNDERLISTED
NAME-CODE DESIGNATOR OF SIGNIFICANT POINT CHG AS DETAILED:
- GOGEM: ADD FREE ROUTE AIRSPACE RELEVANCE AS EXIT 'X'
REF AIP ENR 4.4-56

++++++++++++++++++++++ RESTRICTED AIRSPACE ++++++++++++++++++++++++

W1304/26
ASCENT OF LIGHT FREE BALLOONS WILL TAKE PLACE WI 75NM RADIUS OF
460314N0114633E (SOVRAMONTE-WSW BELLUNO) ELEV 130000FT AGL
CHARACTERISTICS:
1- CATEGORY ICAO LIGHT
2- DIAMETER 3M MAX
3- COLOUR WHITE
F) GND G) UNL

W1116/26
DAILY 1130-2159
ASCENT OF LIGHT FREE BALLOONS WILL TAKE PLACE WI 1.85KM RADIUS OF
454908N0114801E /BORSO DEL GRAPPA-WNW TREVISO/ ELEV UNL
CHARACTERISTICS:
-CATEGORY ICAO LIGHT
-COLOUR WHITE
F) GND G) UNL

W1306/26
DAILY SR-SS
CIV UNMANNED ACFT ACTIVITY WILL TAKE PLACE WI FOLLOWING AREA:
453452N0084020E-453405N0084235E-453211N0084302E
453220N0084105E-453452N0084020E
/CISLAGO-OLEGGIO-SSE VARESE/ ELEV 25M AGL
F) GND G) 25M AGL

W1218/26
DAILY 0900-SS
HANG GLIDERS COMPETITION WILL TAKE PLACE WI FLW AREAS:
AREA 1:
455415N0083608E-460501N0084322E-460548N0084941E-
460351N0085138E-460019N0084729E-455915N0084953E-
455455N0084523E-455411N0083819E-455057N0083655E-
455415N0083608E
VERTICAL LIMITS: GND-FL095
/ LAVENO MOMBELLO - NNW VARESE /
AREA 2:
455411N0083819E-455455N0084523E-455321N0084542E-
455141N0084707E-455130N0084817E-455120N0084944E-
455201N0085157E-455256N0085257E-455449N0085420E-
455331N0085539E-455130N0085526E-454954N0085324E-
454851N0084628E-455118N0084155E-455057N0083655E-
455411N0083819E
VERTICAL LIMITS: GND-5500FT AMSL / NW VARESE /
DEP SITES:
- MONTE SASSO DEL FERRO 455440N0083817E
- MONTE CROCETTA 455520N0084027E
ARR SITE:
- LAVENO MOMBELLO 455349N0083821E
RMK:
1. ACT SUBJ PRIOR COOR WITH MILANO ACC/MILANO SCCAM (ITALIAN AIR
FORCE COORDINATION AND CONTROL SERVICE)
2. ACT SHALL BE CONDUCTED IN 'G' AIRPSACE AND OUTSIDE CTR/ATZ,
DANGER, PROHIBITED, RESTRICTED AREAS AND TEMPORARY RESTRICTED
AIRSPACE THEREIN CONTAINED.
F) GND G) FL095

W1289/26
APR 24-26 MAY 01-03 SR-SS
GLIDER COMPETITION WILL TAKE PLACE WITHIN FLW AREA:
451400N0072200E-455400N0072400E-462237N0082532E
463217N0100810E-453700N0103500E-454600N0083500E
451400N0072200E/COLLI BRIANTEI-NW MONZA/ ELEV FL175
RMK:
1. ARR/DEP SITE ALZATE BRIANZA AD-LILB 454612N0090939E
2. ACT SUBJ PRIOR COOR WITH MILANO ACC AND MILANO SCCAM (ITALIAN AIR FORCE COORDINATION AND CONTROL SERVICE)
3. ACT SHALL BE CONDUCTED WITHIN ITALIAN TERRITORY
4. ACT SHALL BE CONDUCTED IN G AIRSPACE.
F) GND G) FL175

W1293/26
DAILY SR-SS
CIV UNMANNED ACFT ACTIVITY WILL TAKE PLACE WI FOLLOWING AREA:
454359N0084106E-453737N0083951E-453101N0084506E
453050N0084332E-453742N0083813E-454426N0083924E
454359N0084106E /CISLAGO-OLEGGIO-SSE VARESE/ ELEV 45M AGL
F) GND G) 45M AGL

W1130/26
DAILY 0500-2100
CAPTIVE KITES DISPLAY WILL TAKE PLACE WI FOLLOWING AREA:
441457N0122207E-441406N0122239E-441404N0122235E-
441455N0122202E-441457N0122207E
CERVIA-SE RAVENNA/ ELEV 164FT AGL
F) GND G) 164FT AGL

W1121/26
TUE THU 1700-2000
RESTRICTED AREA LI R21A /SARA/ OPR HR EXTD
REF AIP ENR 5.1.2-5
F) FL125 G) FL240

W1122/26
TUE THU 1700-2000
RESTRICTED AREA LI R21B / SARA / OPR HR EXTD.
REF AIP ENR 5.1.2-5
F) FL125 G) FL240

W1126/26
DAILY 0900-SS
TEMPORARY RESTRICTED AREAS IMPLEMENTED AS FLW DUE TO
PARAGLIDING COMPETITION WITHIN NATIONAL FIR BDRY:
- AREA 'GEMONA 1':
463117N0131847E-462350N0132905E-461807N0132158E-
461309N0132321E-461221N0132524E-460530N0133320E-
460952N0130422E-461233N0130247E-461147N0125826E-
461430N0125000E-461348N0124707E-463655N0124644E-
463117N0131847E / ELEV FL100
-AREA 'UDINE - CIVIDALE 2':
460750N0131758E-460402N0131652E-460342N0131251E-
460716N0130550E-460952N0130422E-460750N0131758E
ELEV FL70
-AREA 'CIVIDALE 4':
460750N0131758E-460530N0133320E-460402N0131652E-
460750N0131758E / ELEV 6000FT AMSL
- AREA 'CARNIA 3':
463655N0124644E-461348N0124707E-461100N0123533E-
463341N0123132E-463655N0124644E / ELEV FL100
- AREA 'MEDUNO 4':
461233N0130247E-460952N0130422E-460716N0130550E-
460342N0131251E-460926N0123553E-461100N0123533E-
461348N0124707E-461430N0125000E-461147N0125826E-
461233N0130247E / ELEV FL100
/ VENETO AND FRIULI REGIONS /
RMK: ACT SUBJ COOR WITH AVIANO APP/PADOVA ACC
F) GND G) FL100

W1164/26
DAILY 0900-SS
RESTRICTED AREA 'LI R49/B - ZITA' LOWER LIMIT RAISED TO FL110
DUE TO ACT ANNOUNCED BY NOTAM W1126/26
REF AIP ENR 5.1.2-11
F) FL050 G) FL110

W1056/26
20-23 27-30 0600-2000
MIL AIR EXER WILL TAKE PLACE WI FLW AREAS:
AREA 'BUDOIA': 455806N0124045E-455151N0122929E-455656N0122033E-
460706N0123300E-460645N0123651E THEN ARC OF CIRCLE IN CLOCKWISE
DIRECTION RADIUS 5NM CENTRED ON 460148N0123556E TILL POINT
455806N0124045E /NW PORDENONE/
AREA 'SPILIMBERGO':
460000N0125000E-461010N0125000E-461232N0130249E-
460804N0130518E-460000N0125000E /NNE PORDENONE/
RMK: ACT SUBJ APPROVAL BY AND CONS RDO CTC WITH AVIANO APP
F) 1000FT AGL G) FL130

W1082/26
DAILY 0600-1600 EXC 24
CIV UNMANNED ACFT ACTIVITY WILL TAKE PLACE WI 270M RADIUS OF
440417N0095433E/LERICI- SE LA SPEZIA/ELEV 50M AGL
RMK: ACT SUBJ PRIOR COOR WITH MILANO SCCAM (ITALIAN AIR FORCE
COORDINATION AND CONTROL SERVICE)
F) GND G) 50M AGL

E0483/26
TRIGGER NOTAM-PERM AIP AIRAC AMDT 4/26 EFFECTIVE DATE 16 APR 2026
ENR 5.5.1 'PARACHUTING ACTIVITY'
UPDATE OF REMARKS OF ZONE 'ACQUI TERME - CIV'
AIRAC IS POSTED AND **AVBL** ON WEBSITE WWW.ENAV.IT
F) SFC G) FL080

E0491/26
TRIGGER NOTAM-AIRAC SUP S23/26 IN FORCE FM 16 APR TO 31 DEC 2026
TEMPORARY NAVIGATION WARNING
NATURE OF ACTIVITY:
CIVIL UNMANNED ACFT ACTIVITY
SUP IS POSTED AND **AVBL** ON WEBSITE WWW.ENAV.IT
F) SFC G) 50M AGL

W1134/26
MON-FRI 0530-0700 0830-1000 1300-1430
TEMPORARY RESTRICTED AREA IMPLEMENTED AS FOLLOW:
455408N0133620E-455413N0133523E-455427N0133530E-
455429N0133532E-455444N0133554E-455442N0133614E-
455439N0133628E-455438N0133628E-455434N0133639E-
455411N0133633E-455412N0133621E-455408N0133620E
/GORIZIA AD-LIPG/ ELEV 227FT AGL DUE TO UNMANNED ACFT ACTIVITY
F) GND G) 227FT AGL

W1038/26
15 16 22 29 30 0500-1600
MILITARY FIRING AREA / PONTICELLO - NE BOLZANO/ **ACTIVATED** WITH
UPPER LIMIT LOWERED AT 7000FT AMSL
REF AIP ENR 5.2.1.2-2
F) SFC G) 7000FT AMSL

W1113/26
DAILY SR-SS
TEMPORARY RESTRICTED AREA IMPLEMENTED AS FLW:
433627N0105714E-434132N0105237E-434221N0105455E-
433748N0105928E-433702N0105936E-433614N0105959E-
433502N0110204E-433350N0110137E-433327N0110032E-
433508N0105703E-433627N0105714E /CASTELFIORENTINO - SW FIRENZE/
ELEV 525FT AMSL DUE TO CIV UNMANNED ACFT ACTIVITY
F) GND G) 525FT AMSL

W0846/26
13 14 20 21 27 0500-2030
MILITARY FIRING AREA /MONTE SERVA NORD-N BELLUNO/ ACT
REF AIP ENR 5.2.1.2-2
F) SFC G) 5100FT AMSL

W1042/26
SR-SS
MIL UNMANNED ACFT ACTIVITY WILL TAKE PLACE WI AREA 1.5NM RADIUS OF
445447N0094324E /LIMS-PIACENZA AD/
F) GND G) 1000FT AGL

W0854/26
09 16 21-23 29 0600-2000
MILITARY FIRING AREA /TAVERNETTE-WSW TORINO/ ACT
REF AIP ENR 5.2.1.1-2
F) SFC G) 8400FT AMSL

W0967/26
MIL UNMANNED ACFT ACT WILL TAKE PLACE WI AREA NAMED 'DEL DIN'
BOUNDED BY LINE JOINING FLW POINTS:
453400N0113144E-453359N0113139E-453413N0113124E-
453423N0113124E-453421N0113133E-453427N0113134E-
453437N0113139E-453453N0113144E-453453N0113147E-
453450N0113152E-453452N0113156E-453443N0113200E-
453405N0113200E-453400N0113155E-453400N0113144E
(VICENZA TOWN)
F) GND G) 500FT AGL

W0979/26
TEMPORARY RESTRICTED AREA IMPLEMENTED AS FLW:
455121N0122330E-455135N0122342E-455128N0122358E-
455114N0122346E-455121N0122330E
/VAZZOLA - NNE TREVISO/ ELEV 56M AGL
DUE TO CIV UNMANNED ACFT ACTIVITY
RMK: ACT SUBJ PRIOR COOR AND APPROVAL BY AVIANO APP
F) GND G) 56M AGL

W0964/26
TUE-FRI 0600-2030
MILITARY FIRING AREA /CLOU NEF - W AOSTA/ ACT
REF AIP ENR 5.2.1.1-1
F) SFC G) 6200FT AMSL

W1019/26
DAILY 0500-1330
TEMPORARY RESTRICTED AREA IMPLEMENTED AS FLW:
434940N0103621E-434932N0103632E-434917N0103628E
434920N0103553E-434937N0103604E-434940N0103621E /PORCARI-E LUCCA /
ELEV 60M AGL DUE TO CIV UNMANNED ACFT ACTIVITY
RMK: ACT SUBJ PRIOR COOR AND APPROVAL BY LUCCA AFIU (AERODROME
FLIGHT INFORMATION UNIT)
F) GND G) 60M AGL

W0949/26
THU FRI 0600-2100 EXC APR 30 MAY 01
MILITARY FIRING AREA /MALGA VACCARO-N BOLZANO/ **ACTIVATED**
WITH UPPER LIMIT RAISED TO 9500FT AMSL
REF AIP ENR 5.2.1.2-1
F) SFC G) 9500FT AMSL

W0907/26
MON-THU 0700-1400, FRI 0700-1000 EXC APR 06
MIL PJE WILL TAKE PLACE WI AREA 3NM RADIUS OF
440520N0095920E /SARZANA **AD** (LIQW)/
RMK: ACT SUBJ APPROVAL BY AND CONS RDO CTC WITH
SARZANA TWR AND MILANO ACC
F) GND G) FL130

W0836/26
01 02 07-09 13-17 20-24 28-30 0600-2100
MILITARY FIRING AREA / CAO MALNISIO - NNW PORDENONE / ACT
REF AIP ENR 5.2.1.2-1
F) SFC G) 3971FT AMSL

W0839/26
WED 0600-2100
MILITARY FIRING AREA /MONRUPINO-N TRIESTE/ ACT
REF AIP ENR 5.2.1.2-1
F) SFC G) 3500FT AMSL

W0848/26
01 08 09 14 15 16 21 22 23 28 29 30 0600-2100
MILITARY FIRING AREA / CELLINA MEDUNA - NE PORDENONE / ACT
REF AIP ENR 5.2.1.2-1
F) SFC G) 4500FT AMSL

W0849/26
01 07 08 14 15 21 22 28 29 0600-1600, 02 09 16 23 30 0600-2200
MILITARY FIRING AREA (CANDELO MASAZZA-NW VERCELLI) **ACTIVATED**
REF AIP ENR 5.2.1.1-1
F) SFC G) 1500FT AGL

W0853/26
WED THU 0600-1100 1200-1600 1700-2200,, 14 21 27 28 0600-1100
1200-1600
MILITARY FIRING AREA /RIVOLI BIANCHI TOLMEZZO-N UDINE/ **ACTIVATED**
REF AIP ENR 5.2.1.2-2
F) SFC G) 8891FT AMSL

W0909/26
MON-FRI 0600-2159 EXC APR 06 MAY 01
MIL UNMANNED ACFT ACT, FIRING ACT AND MIL PJE WILL TAKE PLACE WI
AREA 1.5NM
RADIUS OF 440327N0094937E /MUZZERONE-S LA SPEZIA/
RMK: MIL PJE SUBJ APPROVAL BY AND CONS RDO CTC WITH
MILANO SCCAM (ITALIAN AIR FORCE COOR AND CTL SER)
F) SFC G) FL060

W0970/26
01 02 07 09 10 13 16 17 20 23 24 27 30 0600-1630, 08 14 15 21 22
28 29 0600-2000
MILITARY FIRING AREA /CAVE DOBBIACO-N BELLUNO/ ACT
REF AIP ENR 5.2.1.2-1
F) SFC G) 7000FT AMSL

W0906/26
RESTRICTED AREA LI R313 / ROVERE' DELLA LUNA - N TRENTO/ ACT
MON WED-FRI SR-SS, TUE SR-SS PLUS120
RIF AIP ENR 5.1.2-33
F) GND G) 2500FT AMSL

W0922/26
MIL UNMANNED ACFT ACT WILL TAKE PLACE WI FLW AREAS:
- AREA 1:
LINE JOINING POINTS:
460134N0123354E-460339N0123553E-460144N0123751E-
460059N0123635E-460035N0123454E-460134N0123354E
/AVIANO **AD** (LIPA)/
- AREA 2:
LINE JOINING POINTS:
460345N0123442E-460413N0123512E-460428N0123441E-
460405N0123417E-460345N0123442E
/AVIANO - NNW PORDENONE/
F) GND G) 150FT AGL

W0974/26
TEMPORARY RESERVED AREA IMPLEMENTED DUE TO MIL UNMANNED ACFT WI
2.1NM RADIUS OF 434723N0103800E /ALTOPASCIO-NE PISA/
RMK: ACT SUBJ RDO CTC WITH 'LUCCA **AD** FLT INFO UNIT (AFIU) ON FREQ
122.505MHZ
F) GND G) 974FT AMSL

W0985/26
DAILY 1800-0500
TEMPORARY RESTRICTED AREA IMPLEMENTED WI 350M RADIUS OF
453037N0091109E /NORTH OF MILANO/ ELEV 63M AGL
DUE TO CIV UNMANNED ACFT ACTIVITY.
F) GND G) 63M AGL

W0920/26
MON-FRI 0700-1500
TEMPORARY AIRSPACE RESERVATION **ACTIVE** WI AREA 1NM
RADIUS OF 440530N0095200E /LA SPEZIA GULF/ DUE TO CAPTIVE BALLOON
F) SFC G) 2000FT AMSL

W0921/26
MON-FRI 0700-1500
TEMPORARY AIRSPACE RESERVATION **ACTIVE** WI AREA 1NM
RADIUS OF 440530N0094950E /LA SPEZIA GULF/ DUE TO CAPTIVE BALLOON
F) SFC G) 2000FT AMSL

W0742/26
DAILY 0900-1600
ASCENT OF LIGHT FREE BALLOONS WILL TAKE PLACE
WI 54NM RADIUS OF 454758N0110408E /TRENTO/ ELEV UNL
CHARACTERISTICS:
1- COLOUR WHITE
2- WEIGHT MAX 2.6KG
3-DIAMETER 2M
4- CATEGORY ICAO LIGHT
F) GND G) UNL

W0344/26
MON-FRI 0700-1000
AEROBATIC TRAINING AREA / LIGNANO/ **ACTIVATED.**
REF AIP ENR 5.5.2-7
F) SFC G) 4500FT AGL

W0715/26
MON-THU 0600-1400, FRI 0600-1000
CIV UNMANNED ACFT ACTIVITY WILL TAKE PLACE WI 250M RADIUS OF
440442N0095804E /AMEGLIA-SE LA SPEZIA/ELEV 25M AGL
RMK: ACT SUBJ PRIOR COOR WITH SARZANA TWR AND MILANO SCCAM
(ITALIAN AIR FORCE COORDINATION AND CONTROL SERVICE)
F) GND G) 25M AGL

W0714/26
CIV UNMANNED AIRCRAFT ACTIVITY WILL TAKE PLACE WI 500M RADIUS OF:
POINT 1: 440603N0095127E /LA SPEZIA/
POINT 2: 440657N0094417E /RIOMAGGIORE - W LA SPEZIA/
POINT 3: 440624N0094342E /MANAROLA - WNW LA SPEZIA/
POINT 4: 440806N0094058E /VERNAZZA - NW LA SPEZIA/
ELEVATION 60M AGL
REMARK: ACT SUBJECTED PRIOR COORDINATION WITH MILANO SCCAM
(ITALIAN AIR FORCE COORDINATION AND CONTROL SERVICE)
F) GND G) 60M AGL

W0803/26
TUE-THU 0630-2200 EXC APR 06 MAY 01
MIL UNMANNED ACFT ACT WILL TAKE PLACE WI AREA NAMED 'DEL DIN'
BOUNDED BY LINE JOINING FLW POINTS:
453453N0113144E-453453N0113147E-453450N0113152E-
453400N0113155E-453400N0113144E-453359N0113139E-
453413N0113124E-453419N0113130E-453423N0113130E-
453421N0113133E-453427N0113134E-453437N0113139E-
453453N0113144E /N VICENZA/
F) GND G) 250FT AGL

E0627/26
LI TSA78/B - ALTO ADRIATICO
ADDN RMK:
SUPERSONIC FLIGHT IS PROHIBITED NORTH OF LINE JOINING FOLLOWING
POINTS:
461811N0131452E - 461900N0131400E - 455251N0115143E
REF AIP ENR 5.1.4-12 'TEMPORARY SEGREGATED AREAS'
F) FL370 G) FL600

E0628/26
LI-TSA 78/A - ALTO ADRIATICO
TYPE OF ACTIVITY:
MILITARY AIR ACTIVITY
REF AIP ENR 5.1.4-11 'TEMPORARY SEGREGATED AREAS'
F) FL370 G) FL600

E0626/26
LI TSA72 - ALBENGA
ADDN RMK:
SUPERSONIC FLIGHT IS PROHIBITED WEST OF LINE JOINING FOLLOWING POINTS:
441000N0074100E - 444500N0071500E - 444926N0071705E.
REF AIP ENR 5.1.4-9 'TEMPORARY SEGREGATED AREAS'
F) FL380 G) UNL

E0369/26
ULTRA LIGHT MACHINE ACTIVITY AREA 'SAN GIULIANO TERME AREA (NNE PISA)' COMPLETELY **WITHDRAWN**
REF AIP ENR 5.5.4-7 'ULTRA LIGHT MACHINE ACTIVITY (ULM)'
F) GND G) 900FT AGL

W0748/26
MAR 16-28 0730-2000,, MAR 29-JUN 12 0630-1900
CIV UNMANNED ACFT ACTIVITY WILL TAKE PLACE WI AS FLW:
440537N0095111E-440548N0095156E-440543N0095158E-
440538N0095148E-440521N0095156E-440513N0095122E-
440537N0095111E /LA SPEZIA/ ELEV 120M AGL
RMK: ACT SUBJ PRIOR COOR WITH MILANO SCCAM (ITALIAN AIR FORCE COORDINATION AND CONTROL SERVICE)
F) GND G) 120M AGL

W0747/26
TEMPORARY RESTRICTED AREA IMPLEMENTED AS FOLLOW:
454305N0082911E-454312N0082917E-454309N0082926E-
454302N0082920E-454305N0082911E
/GATTICO-N NOVARA/ ELEV 26M AGL
DUE TO CIV UNMANNED ACFT ACTIVITY
F) GND G) 26M AGL

W0622/26
MAR 11-28 0700-1700, MAR 29-JUN 08 0600-1600
ASCENT OF FREE BALLOONS WILL TAKE PLACE WI AREA 3NM RADIUS OF
452026N0080726E / TRONZANO VERCELLESE - WNW VERCELLI / ELEV UNL
BALLOONS CHARACTERISTICS:
1-COLOUR WHITE
2-CATEGORY LIGHT
3-WEIGHT: MAX 4KG
F) GND G) UNL

W0699/26
TEMPORARY RESTRICTED AREA IMPLEMENTED AS FLW:
454635N0090418E-454646N0090409E-454651N0090424E-
454645N0090429E-454638N0090427E-454635N0090418E / COMO TOWN/ ELEV 25M AGL DUE TO CIV UNMANNED ACFT ACTIVITY
F) GND G) 25M AGL

W0641/26
MAR 09-28 1330-1730,, MAR 29-MAY 29 1230-1630
CIV UNMANNED ACFT ACTIVITY WILL TAKE PLACE WI 0.09KM RADIUS OF
440729N0095036E /LA SPEZIA/ ELEV 40M AGL
RMK: ACT SUBJ PRIOR COOR WITH MILANO SCCAM (ITALIAN AIR FORCE COORDINATION AND CONTROL SERVICE)
F) GND G) 40M AGL

W0627/26
TEMPORARY RESTRICTED AREA IMPLEMENTED AS FOLLOW:
441537N0120415E-441547N0120423E-441553N0120428E-
441542N0120453E-441527N0120442E-441537N0120415E
/ FORLI' TOWN / ELEV 45M AGL
DUE TO CIV UNMANNED ACFT ACTIVITY
F) GND G) 45M AGL

W0584/26
DAILY SR MINUS30-SS PLUS30
CIV UNMANNED ACFT ACT WILL TAKE PLACE WI FLW AREA:
440327N0095059E-440207N0095238E-440233N0095350E
440421N0095254E-440413N0095121E-440346N0095047E
440327N0095059E /SE LA SPEZIA/ ELEV 393FT AMSL
RMK: ACT SUBJ PRIOR COOR WITH MILANO SCCAM (ITALIAN AIR FORCE
COORDINATION AND CONTROL SERVICE)
F) SFC G) 393FT AMSL

W0528/26
DAILY 0700-1800
MIL UNMANNED ACFT ACT WILL TAKE PLACE WI 1.5NM RADIUS OF
440529N0094948E /LA SPEZIA GULF/
F) SFC G) 2500FT AMSL

W0481/26
MON-FRI SR-SS
TEMPORARY RESTRICTED AREA IMPLEMENTED AS FLW:
460808N0124136E-460648N0124240E-460637N0124200E
460749N0124106E-460751N0124115E-460802N0124114E
460808N0124136E /MANIAGO-N PORDENONE / ELEV 1000FT AGL
DUE TO CIV UNMANNED ACFT ACTIVITY
RMK: ACT SUBJ PRIOR COOR AND APPROVAL BY AVIANO APP
F) GND G) 1000FT AGL

W0360/26
CIV UNMANNED ACFT ACT WILL TAKE PLACE WI FLW AREA:
453758N0091037E-453759N0091149E-453727N0091149E-
453728N0091044E-453758N0091037E (DESIO-NW MONZA) ELEV 60M AGL
F) GND G) 60M AGL

W0511/26
FEB 21-MAR 28 0800-1800, MAR 29-MAY 20 0700-1700
CIV UNMANNED ACFT ACTIVITY IMPLEMENTED AS FOLLOW:
443234N0105207E-443232N0105216E-443222N0105214E
443224N0105202E-443234N0105207E
/MARANELLO-WSW MODENA/ ELEV 328FT AGL
F) GND G) 328FT AGL

W0453/26
CIV UNMANNED ACFT ACTIVITY WILL TAKE PLACE WI FOLLOWING AREA:
453941N0083049E-453948N0083241E-453843N0083248E
453839N0083100E-453941N0083049E (BOGOGNO-N NOVARA) ELEV 45M AGL F)
GND G) 45M AGL

W0156/26
FEB 10-MAR 24 0500-2300, MAR 25-MAY 10 0400-2200
TEMPORARY RESTRICTED AREA IMPLEMENTED AS FLW:
434349N0102212E-434401N0102457E-434247N0102435E-
434226N0102211E-434349N0102212E / PISA TOWN / ELEV 25M AGL
DUE TO CIV UNMANNED ACFT ACTIVITY
RMK: ACT SUBJ PRIOR COOR AND APPROVAL BY PISA TWR.
F) GND G) 25M AGL

W0332/26
ASCENT OF FREE BALLOONS WILL TAKE PLACE WI FLW AREA:
432037N0103249E-431455N0105450E-430419N0104248E-
430650N0103340E-431723N0103438E-432037N0103249E
/GUARDISTALLO-MONTEVERDI MARITTIMO-SE LIVORNO/ELEV 130000FT AGL
BALLOONS CHARACTERISTICS:
1-COLOUR: WHITE
2-DIAMETER: 1.8M
3-WEIGHT 4KG MAX
4-CATEGORY LIGHT
F) GND G) UNL

W0178/26
MIL UNMANNED ACT WILL TAKE PLACE WI 0.25NM RADIUS OF
452847N0113609E /LONGARE - SE VICENZA/
F) GND G) 500FT AGL
W0179/26
MIL UNMANNED ACT WILL TAKE PLACE WI FLW AREA NAMED 'EDERLE':
453243N0113508E THEN ARC OF CIRCLE IN CLOCKWISE **DIRECTION**
0.25NM RADIUS CENTRED ON 453233N0113456E TILL POINT
453240N0113436E THEN ARC OF CIRCLE IN CLOCKWISE **DIRECTION**
0.5NM RADIUS CENTRED ON 453309N0113447E TILL POINT 453243N0113508E
/ESE VICENZA/
F) GND G) 500FT AGL
E2779/25
NEW PROHIBITED AREA IMPLEMENTED WITH FOLLOWING
CHARACTERISTICS:
- IDENTIFICATION LI P735
NAME: SAN DONA' DI PIAVE A
- LATERAL LIMITS: LINE JOINING POINT
453813N0123624E-453816N0123631E-
453811N0123637E-453808N0123630E-453813N0123624E
- UPPER LIMIT/LOWER LIMIT: GND/1500FT AGL
REMARKS: VFR AND UAS AIR TRAFFIC PROHIBITED
REF AIP ENR 5.1.1-1 'PROHIBITED AREAS'
F) SFC G) 1500FT AGL
E2769/25
NEW PROHIBITED AREA IMPLEMENTED WITH FOLLOWING CHARACTERISTICS:
- IDENTIFICATION LI P736
NAME: SAN DONA' DI PIAVE B
LATERAL LIMITS: LINE JOINING POINT
453732N0123819E-453729N0123829E-
453713N0123823E-453717N0123810E-453732N0123819E
UPPER LIMIT/LOWER LIMIT: GND/1500FT AGL
TYPE OF ACTIVITY: PROTECTED BUILDINGS OVERFLYING INTERDICTION
REMARKS: VFR AND UAS AIR TRAFFIC PROHIBITED
REF AIP ENR 5.1.1-1 'PROHIBITED AREAS'
F) SFC G) 1500FT AGL

++++++++++++++++++++++++++++++ ROUTE ++++++++++++++++++++++++++++++

E0481/26
TRIGGER NOTAM-PERM AIP AIRAC AMDT 4/26 EFFECTIVE DATE 16 APR 2026
ENR 3.2 AREA NAVIGATION ROUTES
REVIEW OF THE FOLLOWING ATS ROUTES:
-M729
-M730
-M858
-M859
-M985
-Q713
-T772
-Y15
AIRAC IS POSTED AND **AVBL** ON WEBSITE WWW.ENAV.IT

==========
EXTENDED AREA AROUND DESTINATION
==========

LIRR ROME FIR/UIR

++++++++++++++++++++++++++++ FIR/UIR ++++++++++++++++++++++++++++++

E0969/26
VITERBO CTR.
VFR ROUTE SEGMENT ACQUAPENDENTE (RVN3)-ORVIETO SCALO (RVN2)
SUSPENDED DUE TO INTERFERENCE WITH ALFINA AEROBATIC AREA
REF AIP ENR 6.3-7
E0944/26
MON-FRI 0530-0630 1400-1700
FROSINONE ATZ.
ATS COMMUNICATION FACILITIES 'FROSINONE TWR' NOT PROVIDED.
REF AIP ENR 2.1.3-5
M2273/26
MILANO SCCAM FREQ 121.140MHZ **NOT AVBL** DUE TO TECR REF MILAIP ENR 2.1.1.1-5
E0941/26
MILANO SCCAM (ITALIAN AIR FORCE COORDINATION AND CONTROL SERVICE)
FREQ 121.140MHZ **NOT AVBL** DUE TO TECR
REF AIP ENR 2.1.1.1-3
E0905/26
SUP 14/2026
GROUND BASED WEATHER RADAR OBSERVATION SERVICE-ROMA
EXPIRY DATE IS BROUGHT FORWARD TO 20 APR 2026 HR1000
E0906/26
GROUND BASED WEATHER RADAR OBSERVATION SERVICE IS ON TRIAL BASIS
WEATHER REPORT (TAD, THUNDERSTORM AREA DETECTION) TO BE CONSIDERED UNRELIABLE.
REF AIP GEN 3.5
E0904/26
ROMA SCCAM (ITALIAN AIR FORCE COORDINATION AND CONTROL SERVICE)
ATS **NOT AVBL** DUE TO TECR WI A LINE JOINING FOLLOWING POINTS:
383000N0131500E-383000N0143000E-363000N0143000E-363000N0131500E-383000N0131500E
RMK: OPERATIONAL COORDINATION ASSURED
REF AIP ENR 2.1.1.2-4
E0484/26
TRIGGER NOTAM-PERM AIP AIRAC AMDT 4/26 EFFECTIVE DATE 16 APR 2026
UPDATE OF GEN 4.1 SECTION 'AERODROME/HELIPORT CHARGES'
AIRAC IS POSTED AND **AVBL** ON WEBSITE WWW.ENAV.IT
E0490/26
TRIGGER NOTAM-AIRAC SUP S20/26 IN FORCE FM 16 APR TO 28 OCT 2026
REGGIO CALABRIA CTR: LIMITATIONS FOR IFR TRAFFIC
SUP IS POSTED AND **AVBL** ON WEBSITE WWW.ENAV.IT
E0846/26
POSSIBLE UNRELIABILITY OF WI-FI, GLOBAL POSITIONING SYSTEM (GPS) DATA LINK AND DATA VIDEO DUE TO JAMMING ACTIVITY WI AREA 700M RADIUS OF 415510N0122904E /ROMA CITY/ ELEV FM GND TO 1500FT AGL
FLW FREQ (MHZ) MAY BE AFFECTED: 433-434.8 / 862-870 / 1210-1265 / 1560-1610 / 2400-2484 / 5150-5875 /
E0793/26
NIL NOTIFICATION.
AIP AMDT PUBLICATION DATE 02 APR 2026: NIL

E0739/26
MON-FRI 0530-0630 1400-1700
FROSINONE CTR.
APCH CTL SER NOT PROVIDED.
REF AIP ENR 2.1.2.14-1

E0738/26
FROSINONE ATZ.
ATS COMMUNICATION FACILITIES 'FROSINONE TWR' NOT PROVIDED.
REF AIP ENR 2.1.3-5

E0668/26
MON-THU 0530-1900, FRI 0530-1800
BRINDISI SCCAM (ITALIAN AIR FORCE COORDINATION AND CONTROL SERVICE) ATS **NOT AVBL** NORTH OF PARALLEL 404200N DUE TO TECR.
RMK:OPERATIONAL COORDINATION ASSURED.
REF AIP ENR 2.1.1.3-2

E0596/26
SAT-SUN 0530-1700
VITERBO CTR.
APPROACH CONTROL SER NOT PROVIDED
RMK: AIRSPACE CLASSIFICATION 'G'
REF AIP ENR 2.1.2.45-2

E0646/26
MON-THU 0000-0530 2100-2359, FRI 0000-0530 1800-2359, SAT SUN H24, EXC APR 06
ROMA SCCAM (ITALIAN AIR FORCE COORDINATION AND CONTROL SERVICE) ATS NOT PROVIDED
RMK:
- DIFFERENT ATS OPENING TIME **AVBL** PN AT LEAST 5 WORKING DAYS TO: SCCAMCIAMPINO.OPS(A)AERONAUTICA.DIFESA.IT
- SAR, EMERG, SECURITY AIR TRAFFIC AND UNMANNED ACTIVITY NOT AFFECTED
- OPERATIONAL COORDINATION ASSURED H24
REF AIP ENR 2.1.1.2-4

E0660/26
MON-THU 0000-0530 2100-2359, FRI 0000-0530 1800-2359, SAT SUN H24 EXC APR 06
PADOVA SCCAM (ITALIAN AIR FORCE COOR AND CONTROL SERVICE) ATS NOT PROVIDED.
RMK:
- DIFFERENT ATS OPENING TIME **AVBL** PN AT LEAST 5 WORKING DAYS TO: SCCAMCIAMPINO.OPS(AT)AERONAUTICA.DIFESA.IT
- EMERG AND SECURITY AIR TRAFFIC NOT AFFECTED
- OPERATIONAL COORDINATION ASSURED H24
REF AIP ENR 2.1.1.1-19

E0669/26
MON-THU 0000-0530 1900-2359, FRI 0000-0530 1800-2359, SAT SUN H24, EXC APR 06
BRINDISI SCCAM (ITALIAN AIR FORCE COORDINATION AND CONTROL SERVICE) ATS NOT PROVIDED.
RMK: DIFFERENT ATS OPENING TIME **AVBL** PN AT LEAST 5 WORKING DAYS TO: SCCAMCIAMPINO.OPS(AT)AERONAUTICA.DIFESA.IT
- EMERG AND SECURITY AIR TRAFFIC NOT AFFECTED
- OPERATIONAL COORDINATION ASSURED H24
REF AIP ENR 2.1.1.3-2

E0592/26
SAT SUN SR-SS
ULTRALIGHT MACHINE ACTIVITY (ULM) CORRIDOR 'SOVANA' IMPLEMENTED IN CTR GROSSETO ZONE 1 AND 3 WITH FOLLOWING CHARACTERISTICS:
- LATERAL LIMITS: 0.5NM WIDE JOINING POINTS 423301N0111006E - 423924N0113830E
- VERTICAL LIMITS:SFC/500FT AGL
REF AIP ENR 5.5.4

E0574/26
ITALIAN AIR CARRIERS AND CAPTAINS OF AIRCRAFT IN CHARGE OF AIR SERVICES OPERATED BY CARRIERS HOLDING AN OPERATING LICENSE ISSUED BY ITALY, WHETHER THEY ARE CONTRACTUAL CARRIERS AND/OR OPERATING CARRIERS, OR PERFORMING AIR SERVICES THROUGH A WET LEASE OR A CODESHARE AGREEMENT AS WELL AS FOR ANY FLIGHT MADE WITH AN AIRCRAFT REGISTERED IN ITALY WHEN PLANNING FLIGHT OPERATIONS SHALL TAKE INTO SERIOUS CONSIDERATION THE HAZARDOUS SITUATION POSED WITHIN ADDIS ABEBA FIR (HAAA) FROM DEDICATED ANTI AVIATION WEAPONRY IN THEIR RISK ASSESSMENTS AND ROUTING DECISIONS ACCORDING TO EASA SAFETY DIRECTIVES

E0572/26
UKRAINIAN CRISIS
ACCORDING TO EU REGULATION 833/2014, AS AMENDED BY EU REGULATION 2022/334, FOR ANY AIRCRAFT OPERATED BY RUSSIAN AIR CARRIERS, INCLUDING AS A MARKETING CARRIER IN CODE-SHARING OR BLOCKED-SPACE ARRANGEMENTS, OR FOR ANY RUSSIAN REGISTERED AIRCRAFT, OR FOR ANY NON-RUSSIAN-REGISTERED AIRCRAFT WHICH IS OWNED OR CHARTERED, OR OTHERWISE CONTROLLED BY ANY RUSSIAN NATURAL OR LEGAL PERSON, ENTITY OR BODY, IS PROHIBITED TO LAND IN, TAKE OFF FROM OR OVERFLY ITALIAN TERRITORY EXCEPT HUMANITARIAN, SAR AND LEASED AIRCRAFT ONE-WAY RETURN-FLIGHTS WITH THE PERMISSION OF THE APPROPRIATE ITALIAN AUTHORITIES AND IN CASE OF EMERGENCY LANDING OR EMERGENCY OVERFLIGHT.

E0573/26
ENTRY, EXIT AND OVERFLIGHT OF ITALIAN AIRSPACE IS PROHIBITED FOR ALL COMMERCIAL ACFT OPERATORS REGISTERED IN THE REPUBLIC OF BELARUS INCLUDING AS A MARKETING CARRIER IN CODE SHARING OR BLOCKSPACE ARRANGEMENTS, EXC FOR ACFT IN EMERGENCY, SAR AND FLT FOR HUMANITARIAN PURPOSES, ACCORDING TO COUNCIL REGULATION OF EUROPEAN UNION 907/2021 OF 4TH OF JUNE 2021
REF AIP GEN 1.2-1

E0571/26
ITALIAN AIR CARRIERS AND CAPTAINS OF AIRCRAFT IN CHARGE OF AIR SERVICES OPERATED BY CARRIERS HOLDING AN OPERATING LICENSE ISSUED BY ITALY, WHETHER THEY ARE CONTRACTUAL CARRIERS AND/OR OPERATING CARRIERS, OR PERFORMING AIR SERVICES THROUGH A WET LEASE OR A CODESHARE AGREEMENT AS WELL AS FOR ANY FLIGHT MADE WITH AN AIRCRAFT REGISTERED IN ITALY WHEN PLANNING FLIGHT OPERATIONS WITHIN JEDDAH FIR (OEJD) ARE RECOMMENDED TO EXERCISE ENHANCED **CAUTION** AND TO FOLLOW INSTRUCTIONS FROM SAUDI AUTHORITIES PROVIDING AIR TRAFFIC MANAGEMENT PAYING PARTICULAR ATTENTION TO RESTRICTIONS OR INTERDICTIONS PUBLISHED WITH VERY SHORT NOTICE AND TO EASA SAFETY DIRECTIVES.

E0570/26
ITALIAN AIR CARRIERS AND CAPTAINS OF AIRCRAFT IN CHARGE OF AIR SERVICES OPERATED BY CARRIERS HOLDING AN OPERATING LICENSE ISSUED BY ITALY, WHETHER THEY ARE CONTRACTUAL CARRIERS AND/OR OPERATING CARRIERS, OR PERFORMING AIR SERVICES THROUGH A WET LEASE OR A CODESHARE AGREEMENT AS WELL AS FOR ANY FLIGHT MADE WITH AN AIRCRAFT REGISTERED IN ITALY ARE RECOMMENDED TO AVOID KARTHOUM FIR (HSSS) AT ALL ALTITUDES ACCORDING TO EASA SAFETY DIRECTIVES.

E0569/26
ITALIAN AIR CARRIERS AND CAPTAINS OF AIRCRAFT IN CHARGE OF AIR SERVICES OPERATED BY CARRIERS HOLDING AN OPERATING LICENSE ISSUED BY ITALY, WHETHER THEY ARE CONTRACTUAL CARRIERS AND/OR OPERATING CARRIERS, OR PERFORMING AIR SERVICES THROUGH A WET LEASE OR A CODESHARE AGREEMENT AS WELL AS FOR ANY FLIGHT MADE WITH AN AIRCRAFT REGISTERED IN ITALY WHEN PLANNING FLIGHT OPERATIONS ARE RECOMMENDED TO AVOID LAHORE FIR (OPLR) AND KARACHI FIR (OPKR) BELOW HEIGHT 25000FT AGL MONITORING EASA SAFETY DIRECTIVES.

E0568/26
ITALIAN AIR CARRIERS AND CAPTAINS OF AIRCRAFT IN CHARGE OF AIR SERVICES OPERATED BY CARRIERS HOLDING AN OPERATING LICENSE ISSUED BY ITALY, WHETHER THEY ARE CONTRACTUAL CARRIERS AND/OR OPERATING CARRIERS, OR PERFORMING AIR SERVICES THROUGH A WET LEASE OR A CODESHARE AGREEMENT AS WELL AS FOR ANY FLIGHT MADE WITH AN AIRCRAFT REGISTERED IN ITALY ARE RECOMMENDED TO AVOID HEIGHT BELOW 25000FT AGL IN MOGADISHU FIR (HCSM) ACCORDING TO EASA SAFETY DIRECTIVES.

E0566/26
ITALIAN AIR CARRIERS AND CAPTAINS OF AIRCRAFT IN CHARGE OF AIR SERVICES OPERATED BY CARRIERS HOLDING AN OPERATING LICENSE ISSUED BY ITALY, WHETHER THEY ARE CONTRACTUAL CARRIERS AND/OR OPERATING CARRIERS, OR PERFORMING AIR SERVICES THROUGH A WET LEASE OR A CODESHARE AGREEMENT AS WELL AS FOR ANY FLIGHT MADE WITH AN AIRCRAFT REGISTERED IN ITALY ARE RECOMMENDED TO AVOID HEIGHT BELOW 15000FT ABOVE GROUND LEVEL IN YANGON FIR (VYYF) ENSURING ROBUST RISK ASSESSMENT ACCORDING TO EASA SAFETY DIRECTIVES.

E0567/26
ITALIAN AIR CARRIERS AND CAPTAINS OF AIRCRAFT IN CHARGE OF AIR SERVICES OPERATED BY CARRIERS HOLDING AN OPERATING LICENSE ISSUED BY ITALY, WHETHER THEY ARE CONTRACTUAL CARRIERS AND/OR OPERATING CARRIERS, OR PERFORMING AIR SERVICES THROUGH A WET LEASE OR A CODESHARE AGREEMENT AS WELL AS FOR ANY FLIGHT MADE WITH AN AIRCRAFT REGISTERED IN ITALY ARE RECOMMENDED TO EXERCISE ENHANCED **CAUTION** WHEN OVERFLYING OR OPERATING FLIGHTS TO TEL AVIV FIR (LLLL) IN PARTICULAR TO FOLLOW INSTRUCTIONS FROM ISRAELI AUTHORITIES AND TO PAY PARTICULAR ATTENTION TO RESTRICTIONS OR INTERDICTIONS PUBLISHED BY NOTAM WITH VERY SHORT NOTICE DUE TO POTENTIALLY FAST EVOLVING SITUATION AND EASA SAFETY DIRECTIVES.

E0565/26
ITALIAN AIR CARRIERS AND CAPTAINS OF AIRCRAFT IN CHARGE OF AIR SERVICES OPERATED BY CARRIERS HOLDING AN OPERATING LICENSE ISSUED BY ITALY, WHETHER THEY ARE CONTRACTUAL CARRIERS AND/OR OPERATING CARRIERS, OR PERFORMING AIR SERVICES THROUGH A WET LEASE OR A CODESHARE AGREEMENT AS WELL AS FOR ANY FLIGHT MADE WITH AN AIRCRAFT REGISTERED IN ITALY ARE RECOMMENDED TO AVOID PLANNING FLIGHT OPERATIONS IN SANAA FIR (OYSC) AND SOUTHERN RED SEA AT ALL ALTITUDES ENSURING ROBUST RISK ASSESSMENT ACCORDING TO EASA SAFETY DIRECTIVES.

E0564/26
ITALIAN AIR CARRIERS AND CAPTAINS OF AIRCRAFT IN CHARGE OF AIR SERVICES OPERATED BY CARRIERS HOLDING AN OPERATING LICENSE ISSUED BY ITALY, WHETHER THEY ARE CONTRACTUAL CARRIERS AND/OR OPERATING CARRIERS, OR PERFORMING AIR SERVICES THROUGH A WET LEASE OR A CODESHARE AGREEMENT AS WELL AS FOR ANY FLIGHT MADE WITH AN AIRCRAFT REGISTERED IN ITALY ARE RECOMMENDED TO AVOID BAGHDAD FIR (ORBB) ACCORDING TO EASA SAFETY DIRECTIVES.

E0563/26
ITALIAN AIR CARRIERS AND CAPTAINS OF AIRCRAFT IN CHARGE OF AIR SERVICES OPERATED BY CARRIERS HOLDING AN OPERATING LICENSE ISSUED BY ITALY, WHETHER THEY ARE CONTRACTUAL CARRIERS AND/OR OPERATING CARRIERS, OR PERFORMING AIR SERVICES THROUGH A WET LEASE OR A CODESHARE AGREEMENT AS WELL AS FOR ANY FLIGHT MADE WITH AN AIRCRAFT REGISTERED IN ITALY ARE RECOMMENDED TO OPERATE WITHIN AIRSPACE OF LEBANON FIR BEIRUT (OLBB) ACCORDING TO EASA SAFETY DIRECTIVES ENSURING A ROBUST RISK ASSESSMENT.

E0562/26
ITALIAN AIR CARRIERS AND CAPTAINS OF AIRCRAFT IN CHARGE OF AIR SERVICES OPERATED BY CARRIERS HOLDING AN OPERATING LICENSE ISSUED BY ITALY, WHETHER THEY ARE CONTRACTUAL CARRIERS AND/OR OPERATING CARRIERS, OR PERFORMING AIR SERVICES THROUGH A WET LEASE OR A CODESHARE AGREEMENT AS WELL AS FOR ANY FLIGHT MADE WITH AN AIRCRAFT REGISTERED IN ITALY ARE RECOMMENDED TO AVOID AIRSPACE NORTH KOREA (FIR PYONGYANG ZKKP) DUE TO POTENTIAL RISK FROM BALLISTIC MISSILES

E0561/26
ITALIAN AIR CARRIERS AND CAPTAINS OF AIRCRAFT IN CHARGE OF AIR SERVICES OPERATED BY CARRIERS HOLDING AN OPERATING LICENSE ISSUED BY ITALY, WHETHER THEY ARE CONTRACTUAL CARRIERS AND/OR OPERATING CARRIERS, OR PERFORMING AIR SERVICES THROUGH A WET LEASE OR A CODESHARE AGREEMENT AS WELL AS FOR ANY FLIGHT MADE WITH AN AIRCRAFT REGISTERED IN ITALY WHEN PLANNING FLIGHT OPERATIONS SHALL AVOID OPERATIONS IN AFGHANISTAN FIR (OAKX) BELOW HEIGHT 25000 FEET AGL AND ACCORDING TO EASA SAFETY DIRECTIVES. RMK: AIRWAY P500 G500 NOT AFFECTED.

E0560/26
ITALIAN AIR CARRIERS AND CAPTAINS OF AIRCRAFT IN CHARGE OF AIR SERVICES OPERATED BY CARRIERS HOLDING AN OPERATING LICENSE ISSUED BY ITALY, WHETHER THEY ARE CONTRACTUAL CARRIERS AND/OR OPERATING CARRIERS, OR PERFORMING AIR SERVICES THROUGH A WET LEASE OR A CODESHARE AGREEMENT AS WELL AS FOR ANY FLIGHT MADE WITH AN AIRCRAFT REGISTERED IN ITALY ARE REQUESTED TO AVOID MINSK FIR UMMV. FOREIGN AIR CARRIERS INBOUND EU ARE RECOMMENDED TO AVOID MINSK FIR (UMMV) ACCORDING TO EASA SAFETY DIRECTIVES

E0559/26
ITALIAN AIR CARRIERS AND CAPTAINS OF AIRCRAFT IN CHARGE OF AIR SERVICES OPERATED BY CARRIERS HOLDING AN OPERATING LICENSE ISSUED BY ITALY, WHETHER THEY ARE CONTRACTUAL CARRIERS AND/OR OPERATING CARRIERS, OR PERFORMING AIR SERVICES THROUGH A WET LEASE OR A CODESHARE AGREEMENT AS WELL AS FOR ANY FLIGHT MADE WITH AN AIRCRAFT REGISTERED IN ITALY ARE RECOMMENDED TO AVOID OIIX FIR AND ENSURE THAT A ROBUST RISK ASSESSMENT IS IN PLACE TOGETHER WITH A HIGH LEVEL OF CONTINGENCY PLANNING IN WHOLE MIDDLE EAST ACCORDING TO
EASA SAFETY DIRECTIVES.

E0557/26
ITALIAN AIR CARRIERS AND CAPTAINS OF AIRCRAFT IN CHARGE OF AIR SERVICES OPERATED BY CARRIERS HOLDING AN OPERATING LICENSE ISSUED BY ITALY, WHETHER THEY ARE CONTRACTUAL CARRIERS AND/OR OPERATING CARRIERS, OR PERFORMING AIR SERVICES THROUGH A WET LEASE OR A CODESHARE AGREEMENT AS WELL AS FOR ANY FLIGHT MADE WITH AN AIRCRAFT REGISTERED IN ITALY ARE RECOMMENDED TO AVOID PORTIONS OF DAKAR FIR (GOOO) AND NIAMEY FIR (DRRR) WITHIN TERRITORY AND AIRSPACE OF MALI BELOW HEIGHT 25000FT AGL AND ACCORDING TO EASA SAFETY DIRECTIVES.

E0558/26
ITALIAN AIR CARRIERS AND CAPTAINS OF AIRCRAFT IN CHARGE OF
AIR SERVICES OPERATED BY CARRIERS HOLDING AN OPERATING LICENSE
ISSUED BY ITALY, WHETHER THEY ARE CONTRACTUAL CARRIERS AND/OR
OPERATING CARRIERS, OR PERFORMING AIR SERVICES THROUGH A WET LEASE
OR A CODESHARE AGREEMENT AS WELL AS FOR ANY FLIGHT MADE WITH
AN AIRCRAFT REGISTERED IN ITALY SHALL NOT ENTER UIR KYIV UKBU, FIR
LVIV UKLV, FIR KYIV UKBV, FIR DNIPROPETROVSK UKDV,
FIR SIMFEROPOL UKFV, FIR ODESA UKOV, FIR ROSTOV NA DONU URRV. SAID
OPERATORS AND AIRCRAFT OWNERS SHALL ALSO AVOID FLIGHT OPS WITHIN
BUFFER ZONE EXTENDED OUT 200NM ALONG UKRAINE RUSSIA BORDER. FLIGHT
OPS WITHIN CHISHINAU FIR LUUU SHALL ONLY BE UNDERTAKEN
IN COMPLIANCE WITH AERONAUTICAL PUBLICATIONS
ISSUED BY REPUBLIC OF MOLDOVA. OPERATORS ARE ALSO REMINDED
THAT FLIGHT OPS WITHIN MINSK FIR UMMV ARE PROHIBITED AND
THAT ADDITIONAL RISK ASSESSMENT AND FLIGHT PLANNING DECISIONS
SHALL BE TAKEN BEFORE OPERATING IN FIR UUWV, FIR ULLL, FIR USSV,
FIR UWWW IN ACCORDANCE WITH EASA SAFETY DIRECTIVES

E0556/26
ITALIAN AIR CARRIERS AND CAPTAINS OF AIRCRAFT IN CHARGE OF
AIR SERVICES OPERATED BY CARRIERS HOLDING AN OPERATING LICENSE
ISSUED BY ITALY, WHETHER THEY ARE CONTRACTUAL CARRIERS AND/OR
OPERATING CARRIERS, OR PERFORMING AIR SERVICES THROUGH A WET LEASE
OR A CODESHARE AGREEMENT AS WELL AS FOR ANY FLIGHT MADE
WITH AN AIRCRAFT REGISTERED IN ITALY WHEN PLANNING FLIGHT
OPERATIONS ARE RECOMMENDED TO AVOID DAMASCUS FIR (OSTT)
AT ALL ALTITUDES ACCORDING TO EASA SAFETY DIRECTIVES

E0526/26
AMENDOLA CTR.
APCH CONTROL SER CALL SIGN 'AMENDOLA RADAR' MODIFY HR IN RMK 3
TUE-FRI 0700-1000 (0600-0900)
REF AIP ENR 2.1.2.2-3

E0497/26
CAGLIARI CTR.
RADAR SYSTEM TECHNICAL CHARACTERISTICS CHG TO READ:
1.RADAR SYSTEM CONSIST OF:
A.PRIMARY RADAR:
IN S BAND (WAVE LENGTH ABOUT 10 CM) ASR (APPROACH
SURVEILLANCE RADAR) CATEGORY, ATCR 33S NG
B.SECONDARY SURVEILLANCE RADAR (SSR):
ASSOCIATED WITH THE PRIMARY RADAR, SIR S S/I
2.PSR/SSR MAINTENANCE:
MONTHLY EVERY FIRST TUE 0700-0900 (0600-0800)
REF AIP ENR 2.1.2.9-4 PARA 2.1.2.9.6.2

E0519/26
CAGLIARI CTR.
'RADAR SERVICE OPERATIONAL CHARACTERISTICS'
2. 'OPERATIVE SETTING'
A. PRIMARY RADAR:
-60NM FROM DECIMOMANNU AERODROME, FL300
B. SECONDARY SURVEILLANCE RADAR (SSR):
-150NM FROM DECIMOMANNU AERODROME, FL300
3. 'PRIMARY AND SECONDARY RADAR LIMITATIONS':
A. PRIMARY RADAR (PSR):
COVERAGE NOT ASSURED AS FOLLOW:
- SECTOR 010DEG/115DEG BETWEEN 20NM AND NOMINAL RANGE, BELOW 5000FT - SECTOR 170DEG/190DEG BETWEEN 15NM AND NOMINAL RANGE, BELOW 1000FT - SECTOR 190DEG/250DEG BETWEEN 20NM AND NOMINAL RANGE, BELOW 5000FT - SECTOR 250DEG/270DEG BETWEEN 20NM AND NOMINAL RANGE, BELOW 3000FT - SECTOR 270DEG/010DEG BETWEEN 20NM AND NOMINAL RANGE, BELOW 4000FT - PORTION OF AIRSPACE CONTAINED WITHIN A CONE CENTERED ON THE POINT 392112.24N 0085754.36E HAVING 0.7NM RADIUS AT 1000FT AND 10NM RADIUS AT FL300, DUE TO RADAR ANTENNA CONE OF SILENCE.
B. SECONDARY SURVEILLANCE RADAR (SSR):
COVERAGE NOT ASSURED AS FOLLOW:
- SECTOR 040DEG/115DEG BETWEEN 20NM AND NOMINAL RANGE, BELOW 5000FT - SECTOR 190DEG/250DEG BETWEEN 20NM AND NOMINAL RANGE, BELOW 5000FT - SECTOR 250DEG/270DEG BETWEEN 20NM AND NOMINAL RANGE, BELOW 2000FT - SECTOR 270DEG/040DEG BETWEEN 30NM AND NOMINAL RANGE, BELOW 4000FT - PORTION OF AIRSPACE CONTAINED WITHIN A CONE CENTERED ON THE POINT 392112.24N 0085754.36E HAVING 0.3NM RADIUS AT 1000 FT AND 3NM RADIUS AT FL300, DUE TO RADAR ANTENNA CONE OF SILENCE.
REF AIP ENR 2.1.2.9-3 POINT 2.1.2.9.6 'USE OF RADAR IN APPROACH CONTROL SERVICE' PARAGRAPH 2.1.2.9.6.1

E0524/26
TRAPANI CTR.
- PRIMARY RADAR **NOT AVBL** DUE TO LACK COVERAGE AS FLW:
1. ON 'TRP' **VORTAC** ALL ALTITUDE
2. WITHIN 4NM RADIUS FROM GND TO 5000FT, WITHIN 5NM RADIUS FROM 5000FT TO FL120, WITHIN 6NM RADIUS FROM FL120 TO FL160 DUE TO SILENT CONE.
3. ALL SECTORS FROM FL200 TO UNL.
4. SECTOR SOUTH-EAST 140DEG BEYOND 25NM BELOW 6000FT.
- SECONDARY RADAR **NOT AVBL** DUE TO LACK COVERAGE AS FLW:
1. ON 'TRP' **VORTAC** ALL ALTITUDE
2. WITHIN 2NM RADIUS FROM GND TO FL120, WITHIN 4NM RADIUS FROM FL120 TO FL270 DUE TO SILENT CONE.
3. TRAFFIC DEPARTURE FM TRAPANI **AD** RWY31L AND RWY13R TILL 2NM.
4. SECTOR SOUTH-EAST 140DEG BEYOND 25NM BELOW 6000FT.
REF AIP ENR 2.1.2.41-1

E0284/26
PADOVA SCCAM (ITALIAN AIR FORCE COOR AND CTL SERVICE)
FREQ 123.175MHZ **NOT AVBL** DUE TO TECR
REF AIP ENR 2.1.1.1-19

E0133/26
ADDRESSING OF FLIGHT PLAN MESSAGES:
-FPL AND ASSOCIATED MSG FOR GENERAL AIR TFC DEP FM AN AERODROME UNDER ENAV S.P.A. (ITALIAN AGENCY FOR AIR NAVIGATION SERVICES) JURISDICTION IN VFR OR MIXED FLIGHT RULES (Z), SHALL BE ADDRESSED ONLY TO ARO-CBO ITALY (ATS REPORTING OFFICE WITH CENTRAL BRIEFING CAPABILITIES) - LIRFZPZX, WHICH WILL BE RESPONSIBLE FOR THEIR VALIDATION AND DISTRIBUTION TO APPROPRIATE ATS UNIT.
-AFTN ADDRESS LIIRZEZX SHALL BE ADDED TO THE LIST OF RECIPIENTS OF FPL AND ASSOCIATED MSG FOR VFR OR MIXED FLIGHT RULES (Y OR Z) TFC PLANNING TO FLY ONLY IN VFR WI ITALIAN FIR.
REMARK:
FPL RELATED TO EACH VFR AND/OR MIXED FLIGHT RULES (Z) STAGE OF A FLIGHT THROUGH INTERMEDIATE STOPS SHALL BE ADDRESSED SOLELY TO THE ARO ASSOCIATED TO THE DEPARTURE AERODROME OF THAT STAGE.
REF AIP ENR 1.11-1

E0187/26
THE EQUIPMENT REQUIRED TO OVERFLY THE ITALIAN TERRITORY IN NIGHT VFR SHALL INCLUDE AT LEAST:
- SSR TRANSPONDER MODE A AND C
- ONE RADIO EQUIPMENT TO MAINTAIN TWO-WAY COMMUNICATION WITH ATS UNITS
- ELT(S) OR ELT(A) EQUIPMENT
REF AIP ENR 1.2-5 (PARAGRAPH ENR 1.2.1.6 'NIGHT VFR' POINT G

E0161/26
HLLB/BENGASI **AD**
SHALL BE ADDED TO THE LIST OF **AD** FOR WHICH
SPECIFIC PROVISIONS REGARDING TFC TO/FM LIBYA ARE NOT TO BE APPLIED.
REF AIP GEN 1.2-7 ITEM 1.2.3 'REGULATION ON NON-SCHEDULED AIR SERVICES BETWEEN EU AND THIRD COUNTRIES'
ITEM 1.2.3.1 'SPECIFIC PROVISIONS REGARDING TFC TO/FM LIBYA'

E0088/26
PISA CTR.
PSR/SSR MAINTENANCE CHG:
EVERY MON 0800-1000 (0700-0900), IF VMC ONLY.
REF AIP ENR 2.1.2.35-3

E1929/25
TRAFFIC INFORMATION BROADCAST BY AIRCRAFT (TIBA) PROCEDURE IN FORCE H24 WI AREA 2NM RADIUS CENTRED ON 405443N0125727E (PONZA **VORTAC** 'PNZ') FROM GND UP TO 1500FT AMSL.
TIBA PROCEDURE APPLY TO:
- HEMS (HEL EMERG MEDICAL SER) OPS INVOLVING PONZA ISLAND
- CIVIL HEL FLT TO/FROM HELISURFACES ON PONZA ISLAND
- ALL OTHER TRAFFIC CROSSING OR OPERATING WITHIN THE AREA AFFECTED
PILOTS SHALL:
- BROADCAST POSITION, ALTITUDE, AND INTENTIONS ON FREQ 130.00MHZ - MONITOR THE SAME FREQ WHILE OPERATING WITHIN THE AREA.
REF AIP ENR 2.2 'OTHER REGULATED AIRSPACE' POINT 2.2.3 'TIBA ZONE' AND AIP ENR 2.1.1.2.4.3 'RULES FOR VFR TRAFFIC'
F) GND G) 1500FT AMSL

E1428/25
FIREFIGHTING ACTIVITY IS REGULATED AS FLW:
-AIRCRAFT NOT INVOLVED IN FIREFIGHTING OPERATIONS MUST NOT FLY OVER THE FIRE AREA AND MUST EXERCISE EXTREME **CAUTION** WHEN FLYING NEAR IT, CONSIDERING THE POSSIBLE INTERVENTION OF FIREFIGHTING ACFT.
THEREFORE, WHEN AN AERIAL FIREFIGHTING OPERATION IS ANNOUNCED/ACTIVE, IT IS PROHIBITED TO FLY IN THE ZONES IDENTIFIED BY THE FIRE-FIGHTING AUTHORITIES AND NOTIFIED BY THE COMPETENT AUTHORITY OR, IN THE ABSENCE OF SPECIFIC PROVISIONS:
I. WITHIN CONTROLLED AIRSPACE, IN THE ABSENCE OF SPECIFIC COMMUNICATIONS ABOUT THE AREA AFFECTED BY THE FIREFIGHTING OPERATIONS FROM THE ENGAGED ACFT, BELOW 760M (2500FT) AGL WITHIN AN AREA EXTENDING UP TO A HORIZONTAL DISTANCE OF 4KM (2 NM) FROM THE FIRE
II. OUTSIDE CONTROLLED AIRSPACE, BELOW 900M (3000FT) AGL, WITHIN AN AREA EXTENDING UP TO A HORIZONTAL DISTANCE OF 9KM (5NM) FROM THE FIRE.
-TIMELY UPDATES REGARDING THE ZONES AND AREAS AFFECTED CAN BE BROADCAST ON GROUND/AIR/GROUND FREQUENCIES.
PART 1 OF 2

-THE ENGAGED FIREFIGHTING AIRCRAFT KEEP THE ATS UNIT RESPONSIBLE FOR THE AFFECTED AREA INFORMED ABOUT THE FIREFIGHTING OPERATIONS AND THEIR CONCLUSION.
-THE ATS UNIT RESPONSIBLE FOR THE AREA AFFECTED BY THE FIREFIGHTING OPERATIONS PROVIDES AIR TRAFFIC SERVICES, AS FAR AS POSSIBLE:
1.TO THE AIRCRAFT ENGAGED IN FIREFIGHTING OPERATIONS, EXCEPT IN THE FIREFIGHTING AREA WHERE IT PROVIDES ONLY FLIGHT INFORMATION AND ALERT SERVICES.
RMK: IF A CTR IS AFFECTED BY THE FIRE, SID/STAR/INSTR APCH PROC COULD BE TEMPORARILY **SUSPENDED** OR MODIFIED
2.TO OTHER GAT FLIGHTS, BASED ON THE INFORMATION **AVAILABLE** REGARDING THE FIREFIGHTING ACTIVITY, WHICH MAY STILL BE INCOMPLETE.
REF AIP ENR 1.1.1.4 'POLICE, CUSTOMS AND PATROL FLIGHTS ENGAGED IN URGENCY MISSIONS', PARAGRAPH C 'FIREFIGHTING'
PART 2 OF 2

++++++++++++++++++++++++++++ WAYPOINT ++++++++++++++++++++++++++++

E0974/26
LATINA **VOR/DME** 'LAT' 111.20MHZ CH 49X
REMOTE STATUS INDICATOR **NOT AVAILABLE**.
REF AIP ENR 4.1.1-5
E0937/26
PONZA **VORTAC** 'PNZ' FREQ 114.60MHZ CH 93X UNSERVICEABLE
REF AIP ENR 4.1.1-8
E0869/26
GRAZZANISE **TACAN** 'GRA' CH 122X UNSERVICEABLE DUE TO MAINT
REF AIP ENR 4.1.2-3
E0477/26
ELBA **VORTAC** 'ELB' FREQ 114.70MHZ CH 94X UNSERVICEABLE.
REF AIP ENR 3.4.2-5 AND 4.1.1-4

E0472/26
LATINA **VOR/DME** 'LAT' FREQ 111.20 MHZ CH 49X:
- **VOR**
LIMITATIONS BEYOND 15 NM RDL 018 NU
LIMITATIONS BEYOND 29 NM WITHIN 35 NM RDL 024 MRA 14000 FT
LIMITATIONS AT 25 NM
005DEG/110DEG NU
110DEG/130DEG MRA 5000 FT
130DEG/290DEG MRA 2500 FT
290DEG/330DEG MRA 5000 FT
330DEG/005DEG MRA 10000FT
- **DME**
LIMITATIONS BEYOND 15 NM RDL 018 NU
LIMITAZIONI OLTRE/LIMITATIONS BEYOND 17 NM RDL 024 NU
LIMITATIONS AT 25 NM
-005DEG/110DEG NU
-110DEG/130DEG MRA 5000 FT
-130DEG/290DEG MRA 2500 FT
-290DEG/330DEG MRA 5000 FT
-330DEG/005DEG MRA 10000FT
REF AIP ENR 4.1.1-5 'RADIO NAVIGATION AIDS - ENROUTE',
COLUMN 7 'DESIGNATED OPERATIONAL COVERAGE LIMITATIONS'
E0320/26
SIGONELLA **NDB** 'SIG' FREQ 412.00KHZ UNSERVICEABLE
REF AIP ENR 4.1.2-5

++++++++++++++++++++++ RESTRICTED AIRSPACE ++++++++++++++++++++++++

W1206/26
DAILY SS PLUS30-2000
RESTRICTED AREA LI R41 /MONTE ROMANO/ OPR HR EXTD
REF AIP ENR 5.1.2-7
F) SFC G) 6000FT AMSL
W1203/26
DAILY 0700-2000
MIL UNMANNED ACFT ACT WILL TAKE PLACE WI FLW AREA:
422300N0114938E-422300N0115708E-421700N0115708E-
421700N0115038E-421840N0114938E-422300N0114938E
/MONTE ROMANO- SW VITERBO/
F) GND G) 3000FT AMSL
W1157/26
DAILY SR-SS
AIR DISPLAY WILL TAKE PLACE WI 3NM RADIUS OF
430759N0120215E/CASTIGLIONE DEL LAGO-W PERUGIA/ELEV 3000FT AGL
F) GND G) 3000FT AGL
W1127/26
SR-SS
MIL UNMANNED ACT WILL TAKE PLACE WI FLW AREA:
413833N0131803E-413830N0131756E-413830N0131736E-
413835N0131724E-413841N0131718E-413846N0131715E-
413851N0131714E-413855N0131714E-413859N0131716E-
413903N0131719E-413907N0131727E-413908N0131736E-
413903N0131748E-413901N0131752E-413835N0131803E-
413833N0131803E /LIRH - FROSINONE AD/
RMK: ACT SUBJ PRIOR COOR WITH FROSINONE TWR
F) GND G) 2000FT AMSL

W0943/26
MON-FRI 0600-2100
MIL UNMANNED ACT WILL TAKE PLACE WI FLW AREA:
414115N0133929E-414209N0134620E-413921N0134827E-
413819N0134003E-414115N0133929E / ALVITO - E FROSINONE /
F) GND G) 6000FT AMSL

W0640/26
DAILY SR-SS
PARASAILING ACTIVITY WILL TAKE PLACE WI FOLLOWING AREA :
380934N0132248E-381100N0132230E-381215N0132052E-
381218N0132016E-381226N0132036E-381221N0132109E-
381105N0132241E-380935N0132258E-380934N0132248E
/PALERMO COAST LINE/ ELEV 45M AGL
F) GND G) 45M AGL

W1047/26
MON-FRI 0500-2200 EXC MAY 01 JUN 02
MIL UNMANNED ACT WILL TAKE PLACE WI 5KM RADIUS OF
412931N0134310E / LIAQ - AQUINO **AD** /
F) GND G) 1600FT AMSL

W1166/26
VOLCANO STROMBOLI ID 211040,
PSN COORDINATES 384728N0151246E, ELEV 3031FT/924M.
LAVA OVERFLOW IS OBSERVED ON SCIARIA DEL FUOCO.
STROMBOLIAN ACTIVITY IS OBSERVED AT THE SUMMIT CRATERS.
NO ASH CLOUD IS PRODUCED.
ICAO LEVEL OF ALERT COLOUR: ORANGE
RMK: PILOTS SHALL WATCH OUT FOR RELEVANT SIGMET AND VOLCANIC
ADVISORY PRODUCTS PROVIDED BY TOULOUSE VOLCANIC ASH ADVISOR CENTER
(VAAC) IF **AVBL** THROUGH WEB SITE
HTTP://VAAC.METEO.FR/VOLCANOES/STROMBOLI/ (LOWER CASE)
REF AIP ENR 5.3.3-1
F) GND G) UNL

W1113/26
DAILY SR-SS
TEMPORARY RESTRICTED AREA IMPLEMENTED AS FLW:
433627N0105714E-434132N0105237E-434221N0105455E-
433748N0105928E-433702N0105936E-433614N0105959E-
433502N0110204E-433350N0110137E-433327N0110032E-
433508N0105703E-433627N0105714E /CASTELFIORENTINO - SW FIRENZE/
ELEV 525FT AMSL DUE TO CIV UNMANNED ACFT ACTIVITY
F) GND G) 525FT AMSL

W1110/26
OVERFLYING FORBIDDEN TO ALL UNMANNED ACFT UNDER
PROVISION OF ARTICLE 793 AIR NAVIGATION ACT WI FLW AREA:
382450N0155231E-382449N0155231E-382448N0155230E-382451N0155224E-
382501N0155233E-382501N0155234E-382458N0155234E-382456N0155235E-
382451N0155232E-382450N0155231E
/ PALMI - NNE REGGIO CALABRIA / ELEV 120M AGL
F) GND G) 120M AGL

W1107/26
OVERFLYING FORBIDDEN TO ALL UNMANNED ACFT UNDER
PROVISION OF ARTICLE 793 AIR NAVIGATION ACT WI FLW AREA:
381526N0154504E-381526N0154503E-381530N0154511E-
381528N0154512E-381527N0154512E-381525N0154504E-
381526N0154504E (FAVAZZINA-NNE REGGIO CALABRIA)
ELEV 120M AGL
F) GND G) 120M AGL

W0786/26
CIV UNMANNED ACFT ACT WILL TAKE PLACE WI FLW AREA:
382556N0145757E-382237N0150100E-382125N0145909E-382429N0145454E-
382556N0145757E /VULCANO ISLAND-NW MESSINA/ ELEV 394FT AGL
F) GND G) 394FT AGL

W0787/26
CIV UNMANNED ACFT ACT WILL TAKE PLACE WI FLW AREA:
382827N0145608E-382738N0145609E-382738N0145644E-
382828N0145645E-382827N0145608E /LIPARI-NW MESSINA/
ELEV 394FT AGL
F) GND G) 394FT AGL

W0788/26
CIV UNMANNED ACFT ACTIVITY WILL TAKE PLACE WI FOLLOWING AREA:
384859N0151248E-384822N0151438E-384805N0151432E-
384808N0151419E-384755N0151413E-384750N0151424E-
384601N0151319E-384654N0151126E-384707N0151142E-
384717N0151135E-384712N0151111E-384755N0151112E-
384859N0151248E / STROMBOLI ISLAND -NNW MESSINA / ELEV 394FT AGL
F) GND G) 394FT AGL

W0789/26
CIV UNMANNED ACFT ACTIVITY WILL TAKE PLACE WI FOLLOWING AREA:
383514N0145029E-383448N0145029E-383456N0144951E-383517N0144949E-
383514N0145029E (SALINA-NW MESSINA) ELEV 394FT AGL
F) GND G) 394FT AGL

W1051/26
DAILY SR-SS
CIV UNMANNED ACFT ACTIVITY WILL TAKE PLACE WI FLW AREAS
/SW SIRACUSA/:
AREA 1 : 100M RADIUS OF 365737N0151209E/ ELEV 100M AGL
AREA 2: 365945N0151016E-365931N0151456E-365926N0151456E-
365858N0151157E-365931N0151016E-365945N0151016E / ELEV 190M AGL
AREA 3: 370142N0150307E-370143N0150351E-370130N0150420E-
370142N0150307E / ELEV 75M AGL
AREA 4: 365634N0151031E-365628N0151056E-365622N0151053E-
365632N0151029E-365634N0151031E / ELEV 115M AGL
AREA 4BIS: 365403N0150743E-365345N0150840E-365311N0150823E-
365314N0150813E-365340N0150825E-365358N0150739E-
365403N0150743E / ELEV 115M AGL
AREA 5: 365007N0145456E-365000N0145506E-364938N0145439E-
364944N0145427E-365007N0145456E / ELEV 115M AGL
RMK: ACT SUBJ PRIOR COOR WITH SIGONELLA TWR
F) GND G) 190M AGL

W0965/26
MIL UNMANNED ACFT ACTIVITY WILL TAKE PLACE WI FLW AREAS:
- AREA 1: 410332N0135916E-410710N0140758E-410514N0140922E-410339N0141030E-410001N0140149E-410332N0135916E
- AREA 2: 410736N0135151E-410806N0135410E-410836N0135536E-410332N0135916E-410119N0135511E-410436N0135422E-410736N0135151E
- AREA 3: 410836N0135536E-411102N0140303E-411135N0140445E-410710N0140758E-410332N0135916E-410836N0135536E
- AREA 4: 411135N0140445E-411313N0140947E-410953N0141428E-410851N0141201E-410710N0140758E-411135N0140445E
- AREA 5A: 410710N0140758E-410851N0141201E-410656N0141325E-410514N0140922E-410710N0140758E
- AREA 5B: 410514N0140922E-410656N0141325E-410851N0141201E-410953N0141428E-410728N0141750E-410629N0141949E-410228N0141122E-410339N0141030E-410514N0140922E
- AREA 6: 410001N0140149E-410339N0141030E-410228N0141122E-405824N0140259E-410001N0140149E
- AREA 7: 410117N0135507E-410332N0135916E-410000N0140152E-405823N0140305E-405711N0140004E-405947N0135723E-410117N0135507E
RMK: REAL ACTIVATION OF ABOVE MENTIONED AREAS WILL TAKE PLACE ON TACTICAL BASIS BY GRAZZANISE APP IN COOR WITH ROMA ACC
F) GND G) 500FT AGL

W0966/26
MIL UNMANNED ACFT ACT WILL TAKE PLACE WI FLW AREAS:
- AREA 8: 405711N0140004E-410632N0141943E-410306N0142548E-405925N0142035E-405711N0140004E
- AREA 9: 405711N0140004E-405753N0140601E-405259N0140213E-405711N0140004E
- AREA 10: 405753N0140601E-405815N0140928E-405314N0141019E-405259N0140213E-405753N0140601E
- AREA 11: 405815N0140928E-405925N0142035E-405314N0141019E-405815N0140928E
- AREA 12: 405259N0140213E-405314N0141019E-404946N0140638E-404931N0140439E-404642N0140524E-405259N0140213E
- AREA 13: 405235N0142136E-404830N0143513E-404424N0142726E-404756N0142137E-405235N0142136E
- AREA 14: 404830N0143513E-405235N0142136E-405731N0143502E-405448N0143658E-404830N0143513E
- AREA 15: 405858N0142544E-405902N0143232E-405731N0143502E-405520N0142905E-405858N0142544E (CAMPANIA REGION)
RMK: REAL ACTIVATION OF ABOVE MENTIONED AREAS WILL TAKE PLACE ON TACTICAL BASIS BY 'NAPOLI TWR' IN COOR WITH 'ROMA ACC'
F) GND G) 500FT AGL

W0883/26
DAILY 0500-1500
CIV UNMANNED ACFT ACT WILL TAKE PLACE WI FLW AREA:
382735N0145722E-382735N0145727E-382729N0145729E-382729N0145724E-382735N0145722E / LIPARI ISLAND / ELEV 30M AGL
F) GND G) 30M AGL

W1001/26
TUE-THU 0001-2359
MIL UNMANNED ACT WILL TAKE PLACE WI FLW AREA 7.55NM RADIUS OF 431519N0111504E /SOVICILLE-SW SIENA/
F) GND G) 2700FT AMSL

W0817/26
FRI 2301-1200
LI R53/A/B/C/D 'VITERBO' DEACTIVATED.
RMK: AREA CANNOT BE PLANNED AND USED.
REF AIP ENR 5.1.2-15
F) SFC G) 4500FT AMSL

W0716/26
FRI 1100-SS, SAT 0600-1100
CIV UNMANNED ACFT ACTIVITY WILL TAKE PLACE WI FOLLOWING AREA:
422857N0115030E-422822N0115128E-422652N0115021E-
422528N0115203E-422242N0114914E-422257N0114852E-
422518N0115134E-422711N0114905E-422857N0115030E
/ TUSCANIA - W VITERBO / ELEV 300FT AGL
RMK: ACT SUBJ PRIOR COOR WITH VITERBO APP
F) GND G) 300FT AGL

W0903/26
THU FRI 0700-2300
FIRING ACTIVITY WILL TAKE PLACE WI AREA 0.16NM RADIUS OF
433256N0102513E /PARRANA SAN MARTINO-E LIVORNO/
F) SFC G) 2495FT AMSL

W0844/26
MON-FRI 0700-2200 EXC APR 06
MILITARY FIRING AREA /PERSANO-SE SALERNO/ ACT
REF AIP ENR 5.2.1.3-2
F) SFC G) 2400FT AMSL

W0904/26
MON-WED 0700-2300
FIRING ACTIVITY WILL TAKE PLACE WI AREA 0.027NM RADIUS OF
433333N0102458E /PARRANA SAN MARTINO-E LIVORNO/
F) SFC G) 1900FT AMSL

W0851/26
MON-FRI 0600-2000 EXC APR 06
MILITARY FIRING AREA /MASSERIA DEI CIPPI-SW PALERMO/ **ACTIVATED** REF
AIP ENR 5.2.1.3-1
F) SFC G) 3000FT AMSL

W0855/26
MON-FRI 0600-2000 EXC APR 06
MILITARY FIRING AREA /SANTA BARBARA-WSW MESSINA/ **ACTIVATED**
REF AIP ENR 5.2.1.3-2
F) SFC G) 2200FT AMSL

W0840/26
MON-FRI 0500-1200
MILITARY FIRING AREA /LAGO OMODEO-SW NUORO/ **ACTIVATED**
REF AIP ENR 5.2.1.3-1
F) SFC G) 7000FT AMSL

W0902/26
MIL UNMANNED ACFT ACT WILL TAKE PLACE 2,1NM RADIUS OF
431652N0103107E
/CECINA-S LIVORNO/
F) GND G) 1000FT AGL

E0744/26
NEW PROHIBITED AREA IMPLEMENTED WITH FOLLOWING CHARACTERISTICS:
IDENTIFICATION: LI P739
NAME: FORTE BOCCEA
LATERAL LIMITS: 0.2NM RADIUS OF 415408N0122502E
UPPER LIMIT/LOWER LIMIT: GND/ 1000FT AGL
TYPE OF ACTIVITY: PROTECTED BUILDINGS OVERFLYING INTERDICTION
REMARKS: VFR/IFR TRAFFIC AND UAS PROHIBITED EXCEPT STATE ACFT,
HEMS (HEL EMERG MEDICAL SER) AND TFC TO/FM ROMA CIAMPINO (LIRA)
REF AIP ENR 5.1.1 'PROHIBITED AREAS'
F) GND G) 1000FT AGL

W0709/26
DAILY 0600-1800 EXC APR 05 06 MAY 01
MIL PJE WILL TAKE PLACE WI AREA 0.5NM RADIUS OF 433526N0104156E
/CAPANNOLI-ESE PISA/
RMK: ACT SUBJ APPROVAL BY AND CONS RDO CTC WITH ROMA ACC
F) GND G) FL080

W0838/26
MON-FRI 0600-2000 EXC MAR 31 APR 06
MILITARY FIRING AREA / SAN MATTEO - ENE TRAPANI / **ACTIVATED**.
REF AIP ENR 5.2.1.3-2
F) SFC G) 1650FT AMSL

W0776/26
TEMPORARY RESTRICTED AREA IMPLEMENTED AS FLW:
404328N0083203E-404336N0083204E-404334N0083215E
404327N0083213E-404328N0083203E
/SASSARI/ ELEV 56M AGL
DUE TO CIV UNMANNED ACFT ACTIVITY
F) GND G) 56M AGL

W0738/26
MON-FRI SR-SS PLUS30 EXC APR 06 MAY 01 JUN 02
MIL PJE WILL TAKE PLACE WI FLW AREA:
431620N0103500E-431247N0105000E-425607N0104032E-
425341N0102744E-431218N0102907E-431620N0103500E
(SE LIVORNO)
F) SFC G) FL180

W0733/26
MAR 10-MAR 28 0700-1600, MAR 29-APR 30 0600-1500
CIV UNMANNED ACFT ACTIVITY WILL TAKE PLACE WI FLW AREA:
412751N0124155E-412446N0124840E-412228N0124744E-
412542N0124018E-412751N0124155E / NETTUNO-W LATINA / ELEV 120M AGL
RMK: ACT SUBJ PRIOR COOR WITH LATINA TWR
F) GND G) 120M AGL

W0700/26
MAR 09-28 0600-1800, 29-JUN 06 0500-1700
CIV UNMANNED ACFT ACTIVITY IMPLEMENTED AS FLW:
380735N0132156E-380738N0132156E-380739N0132203E-
380736N0132205E-380735N0132156E / PALERMO HARBOUR/ ELEV 50M AGL F)
GND G) 50M AGL

W0560/26
MAR 06-28 0800-1600, MAR 29-JUN 02 0700-1500
ASCENT OF FREE BALLOONS WILL TAKE PLACE WI AREA 1KM
RADIUS OF 432848N0114835E / AREZZO TOWN / ELEV 35000M AMSL
BALLOONS CHARACTERISTICS:
CATEGORY: LIGHT
F) GND G) UNL

W0629/26
TEMPORARY RESTRICTED AREA IMPLEMENTED AS FLW:
380034N0122808E-380153N0123123E-375919N0124033E
375632N0123832E-375857N0123117E-375913N0123201E
380016N0123205E-380034N0122808E /TRAPANI TOWN/ ELEV 250FT AGL
DUE TO CIV UNMANNED ACFT ACTIVITY
RMK: ACT SUBJ PRIOR COOR AND APPROVAL BY TRAPANI TWR/APP
F) GND G) 250FT AGL

W0507/26
MON-THU 0600-2300, FRI 0600-1800
MIL UNMANNED ACFT ACTIVITY WILL TAKE PLACE WI FLW AREA:
414643N0133854E-414647N0134432E-414209N0134620E-414115N0133929E-
414643N0133854E /COLLE TERELLE - ENE FROSINONE/
RMK: ACT SUBJ PRIOR COOR WITH ROMA ACC
F) GND G) 6000FT AMSL

W0539/26

UNMANNED ACFT ACT WILL TAKE PLACE WI FLW IMPLEMENTED CORRIDORS:
- TC-MARGOT WEST
5NM EITHER SIDE LINE JOINING POINTS
412841N0110404E-414621N0094938E-414620N0094503E
VERTICAL LIMITS: FL220-FL230
- TC-MARGOT 01
5NM EITHER SIDE LINE JOINING POINTS
412841N0110404E-420521N0104624E-423840N0100407E-425719N0094500E
VERTICAL LIMITS: FL220-FL230
- TC-MARGOT 02
5NM EITHER SIDE LINE JOINING POINTS
405023N0112359E-412841N0110404E
VERTICAL LIMITS: FL220-FL230
- TC-MARGOT 03
5NM EITHER SIDE LINE JOINING POINTS
395211N0115328E-405023N0112359E
VERTICAL LIMITS: FL220-FL230
- TC-MARGOT 04
5NM EITHER SIDE LINE JOINING POINTS
383341N0115703E-395211N0115328E
VERTICAL LIMITS: FL190-FL220
- TC-MARGOT 05
5NM EITHER SIDE LINE JOINING POINTS
372851N0115845E-383341N0115703E
VERTICAL LIMITS: FL150-FL190
RMK: REAL ACTIVATION OF ABOVE MENTIONED CORRIDORS WILL TAKE PLACE ON TACTICAL BASIS UPON COORDINATION BTN ROMA ACC/ROMA ITALIAN AIR FORCE COORDINATION AND CONTROL SERVICE (SCCAM).
F) FL150 G) FL230

W0483/26

FEB 19-MAR 24 0800-1700, MAR 25-MAY 04 0700-1600
TEMPORARY RESTRICTED AREAS IMPLEMENTED AS FLW:
AREA 1:
410403N0140635E-410357N0140632E-410351N0140648E
410357N0140652E-410403N0140635E
AREA 2
410155N0140146E-410201N0140201E-410157N0140203E
410152N0140149E-410155N0140146E
AREA 3
410317N0140207E-410322N0140220E-410314N0140225E
410309N0140213E-410317N0140207E
AREA 4
410454N0140403E-410458N0140407E-410437N0140408E
410437N0140403E-410454N0140403E / GRAZZANISE-W CASERTA / ELEV 131FT AGL DUE TO CIV UNMANNED ACFT ACTIVITY
RMK: ACT SUBJ PRIOR COOR AND APPROVAL BY GRAZZANISE APP
F) GND G) 131FT AGL

W0363/26

FEB 16-MAR 28 0700-1600, MAR 29-MAY 16 0600-1500
CIV UNMANNED ACFT ACTIVITY WILL TAKE PLACE WI 150M RADIUS OF 415610N0122546E /ROMA TOWN/ ELEV 30M AGL
F) GND G) 30M AGL

W0332/26
ASCENT OF FREE BALLOONS WILL TAKE PLACE WI FLW AREA:
432037N0103249E-431455N0105450E-430419N0104248E-
430650N0103340E-431723N0103438E-432037N0103249E
/GUARDISTALLO-MONTEVERDI MARITTIMO-SE LIVORNO/ELEV 130000FT AGL
BALLOONS CHARACTERISTICS:
1-COLOUR: WHITE
2-DIAMETER: 1.8M
3-WEIGHT 4KG MAX
4-CATEGORY LIGHT
F) GND G) UNL

W0177/26
LI TSA626-CARLOFORTE **SUSPENDED** DUE TO TECR
RMK: AREA CANNOT BE PLANNED AND USED
REF AIP ENR 5.1.4-22
F) FL340 G) FL600

W0176/26
LI D122/B 'SPARTIVENTO' **SUSPENDED** DUE TO TECR
RMK: AREA CANNOT BE PLANNED AND USED
REF AIP ENR 5.1.3-11
F) FL270 G) FL340

E2767/25
NEW PROHIBITED AREA IMPLEMENTED WITH FOLLOWING CHARACTERISTICS:
- IDENTIFICATION LI P734
NAME: TORRE DI POGLINA
LATERAL LIMITS: LINE JOINING POINT
402955N0082123E-402959N0082113E-
403011N0082052E-403004N0082045E-402959N0082029E-403001N0082016E-
403014N0082034E-403020N0082041E-403022N0082058E-403024N0082114E-
403018N0082122E-403008N0082134E-402955N0082123E
UPPER LIMIT/LOWER LIMIT: GND/1500FT AGL
TYPE OF ACTIVITY: PROTECTED BUILDINGS OVERFLYING INTERDICTION
REMARKS: VFR AND UAS AIR TRAFFIC PROHIBITED
REF AIP ENR 5.1.1-1 'PROHIBITED AREAS'
F) SFC G) 1500FT AGL

E2766/25
NEW PROHIBITED AREA IMPLEMENTED WITH FOLLOWING
CHARACTERISTICS:
- IDENTIFICATION LI P733
NAME: SUD EST MARINA DI CERVETERI
- LATERAL LIMITS: LINE JOINING POINT
415848N0120357E-415823N0120442E-
415808N0120438E-415757N0120428E-415759N0120414E-415806N0120353E-
415817N0120340E-415832N0120336E-415848N0120357E
- UPPER LIMIT/LOWER LIMIT: GND/1500FT AGL
REMARKS: VFR AND UAS AIR TRAFFIC PROHIBITED
REF AIP ENR 5.1.1-1 'PROHIBITED AREAS'
F) SFC G) 1500FT AGL

E2765/25
NEW PROHIBITED AREA IMPLEMENTED WITH FOLLOWING CHARACTERISTICS:
- IDENTIFICATION LI P732
NAME: TOR SAPIENZA
LATERAL LIMITS: LINE JOINING POINT
415401N0123538E-415403N0123608E-
415334N0123611E-415335N0123541E-415401N0123538E
UPPER LIMIT/LOWER LIMIT: GND/1500FT AGL
TYPE OF ACTIVITY: PROTECTED BUILDINGS OVERFLYING INTERDICTION
REMARKS: VFR AND UAS AIR TRAFFIC PROHIBITED
REF AIP ENR 5.1.1-1 'PROHIBITED AREAS'
F) SFC G) 1500FT AGL

E2764/25
NEW PROHIBITED AREA IMPLEMENTED WITH FOLLOWING CHARACTERISTICS:
- IDENTIFICATION LI P731
NAME: PINETA SACCHETTI
LATERAL LIMITS: LINE JOINING POINT
415502N0122518E-415505N0122535E-
415456N0122545E-415452N0122542E-415446N0122530E-415444N0122524E-
415445N0122518E-415451N0122518E-415457N0122519E-415502N0122518E
UPPER LIMIT/LOWER LIMIT: GND/1500FT AGL
TYPE OF ACTIVITY: PROTECTED BUILDINGS OVERFLYING INTERDICTION
REMARKS: VFR AND UAS AIR TRAFFIC PROHIBITED
REF AIP ENR 5.1.1-1 'PROHIBITED AREAS'
F) SFC G) 1500FT AGL

++++++++++++++++++++++++++++++ ROUTE ++++++++++++++++++++++++++++++

E0481/26
TRIGGER NOTAM-PERM AIP AIRAC AMDT 4/26 EFFECTIVE DATE 16 APR 2026
ENR 3.2 AREA NAVIGATION ROUTES
REVIEW OF THE FOLLOWING ATS ROUTES:
-M729
-M730
-M858
-M859
-M985
-Q713
-T772
-Y15
AIRAC IS POSTED AND **AVBL** ON WEBSITE WWW.ENAV.IT

==========
EXTENDED AREA AROUND DESTINATION ALTERNATE AIRPORT(S)
==========

LIRR ROME FIR/UIR

Please see section EXTENDED AREA AROUND DESTINATION

==========
AREA ENROUTE DEPARTURE - DESTINATION
==========

LIRR ROME FIR/UIR

Please see section EXTENDED AREA AROUND DESTINATION

[Company NOTAM]

==========
CREW ALERT
==========

SB007/14
SUBJECT: AUTO COST INDEXES
WHEN PLANNING A COST INDEX, 2 OPTIONS ARE AVAILABLE. PILOTS MAY EITHER SELECT A SPECIFIC COST INDEX NUMBER FROM THE LIST, OR THEY MAY SELECT "AUTO". WHEN PLANNING AN "AUTO" COST INDEX, THE SYSTEM WILL REFERENCE THE SCHEDULED "TIME ENROUTE" OPTION AND ATTEMPT TO CHOOSE A COST INDEX WHICH CLOSELY MATCHES THIS VALUE. NOTE THAT THE "TIME ENROUTE" OPTION IS MEANT AS A GATE TO GATE TIME (AS INDICATED ON AN AIRLINE'S FLIGHT SCHEDULE, FOR EXAMPLE). IF A "TIME ENROUTE" OF 2:30 IS SELECTED, THE SYSTEM WILL SUBTRACT THE TAXI TIMES FROM THIS VALUE TO DETERMINE THE SCHEDULED AIR TIME. IT WILL THEN DETERMINE AND USE THE COST INDEX WHICH MATCHES THIS AIR TIME.

SB003/13
SUBJECT: FLIGHT RELEASE UNITS
ALL FLIGHT CREW: PLEASE PAY SPECIAL ATTENTION TO THE UNITS SELECTION WHEN GENERATING A FLIGHT PLAN. FAILURE TO IDENTIFY THE CORRECT UNITS WHEN REFUELING PRIOR TO FLIGHT CAN RESULT IN DEPARTING WITH INSUFFICIENT FUEL AND/OR AN ERRONEOUS PAYLOAD.

==========
CREW BULLETIN
==========

NIL

========== END OF LIDO-NOTAM-BULLETIN ==========

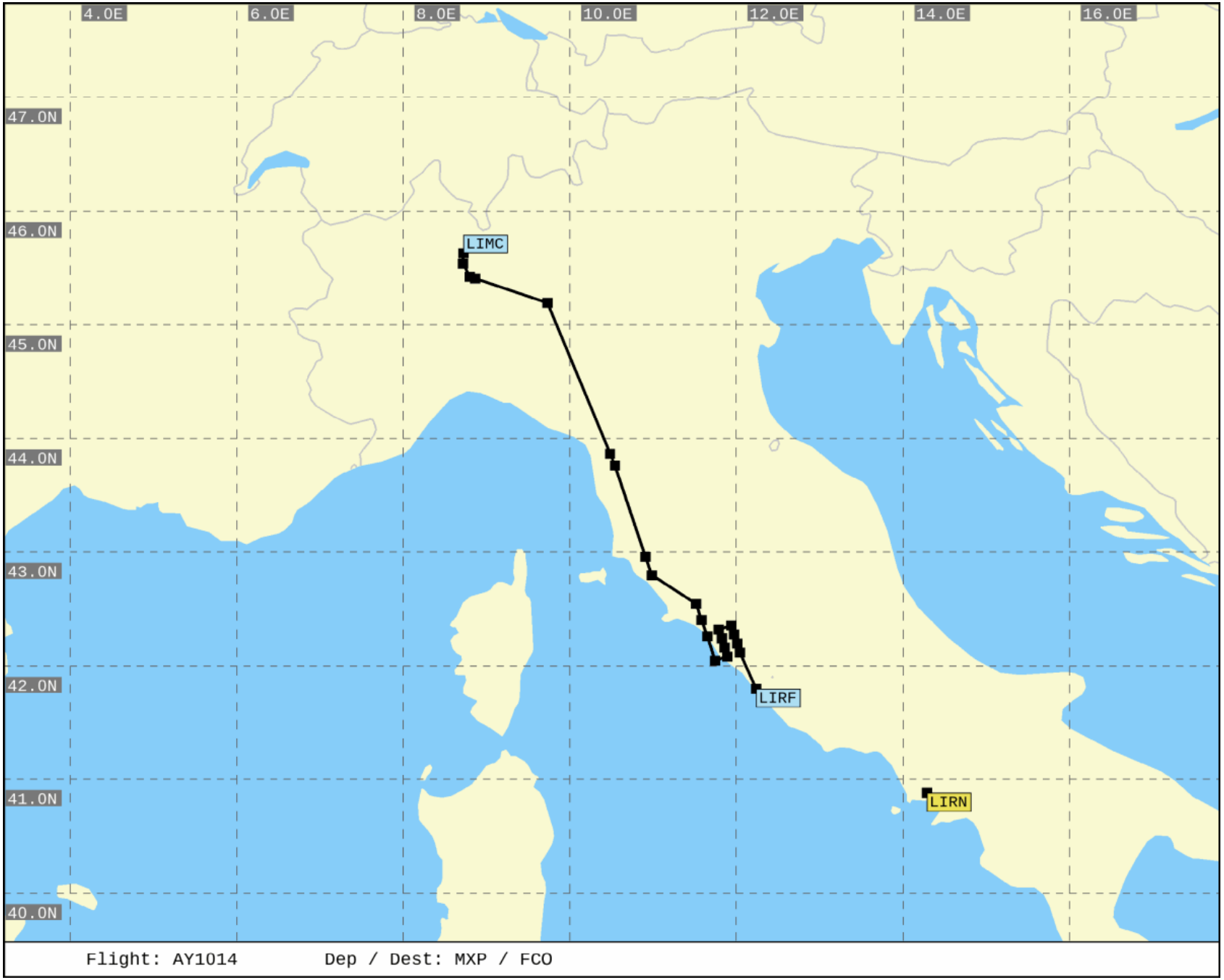
4.0E
6.0E
8.0E
10.0E
12.0E
14.0E
16.0E
47.0N
46.0N
45.0N
44.0N
43.0N
42.0N
41.0N
40.0N
LIMC
LIRF
LIRN
Flight: AY1014
Dep / Dest: MXP / FCO

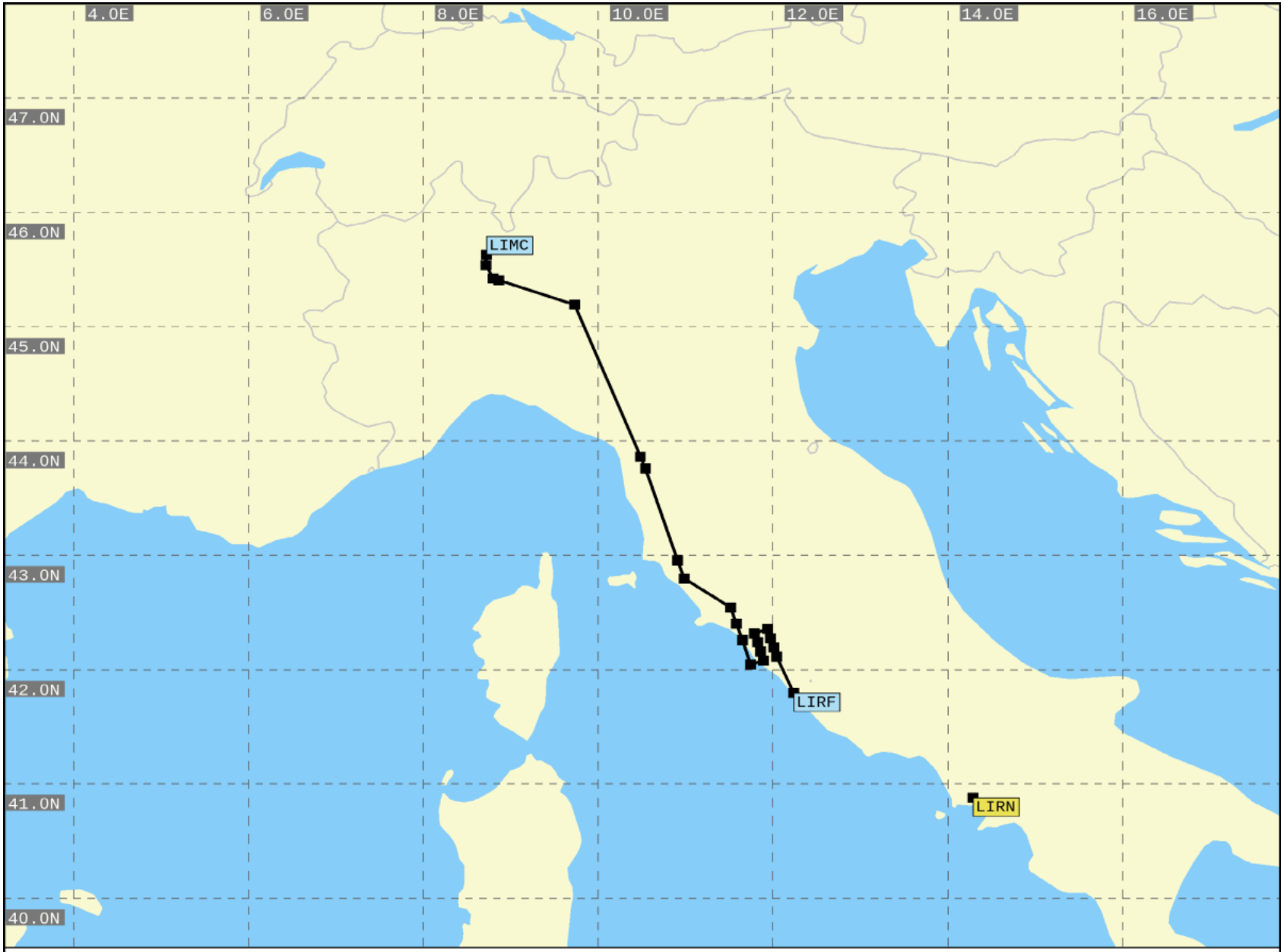

SIG WX FL 100-450 WASHINGTON
VALID 18 UTC ON 25.Apr.2026

Flight: AY1014 Dep / Dest: MXP / FCO

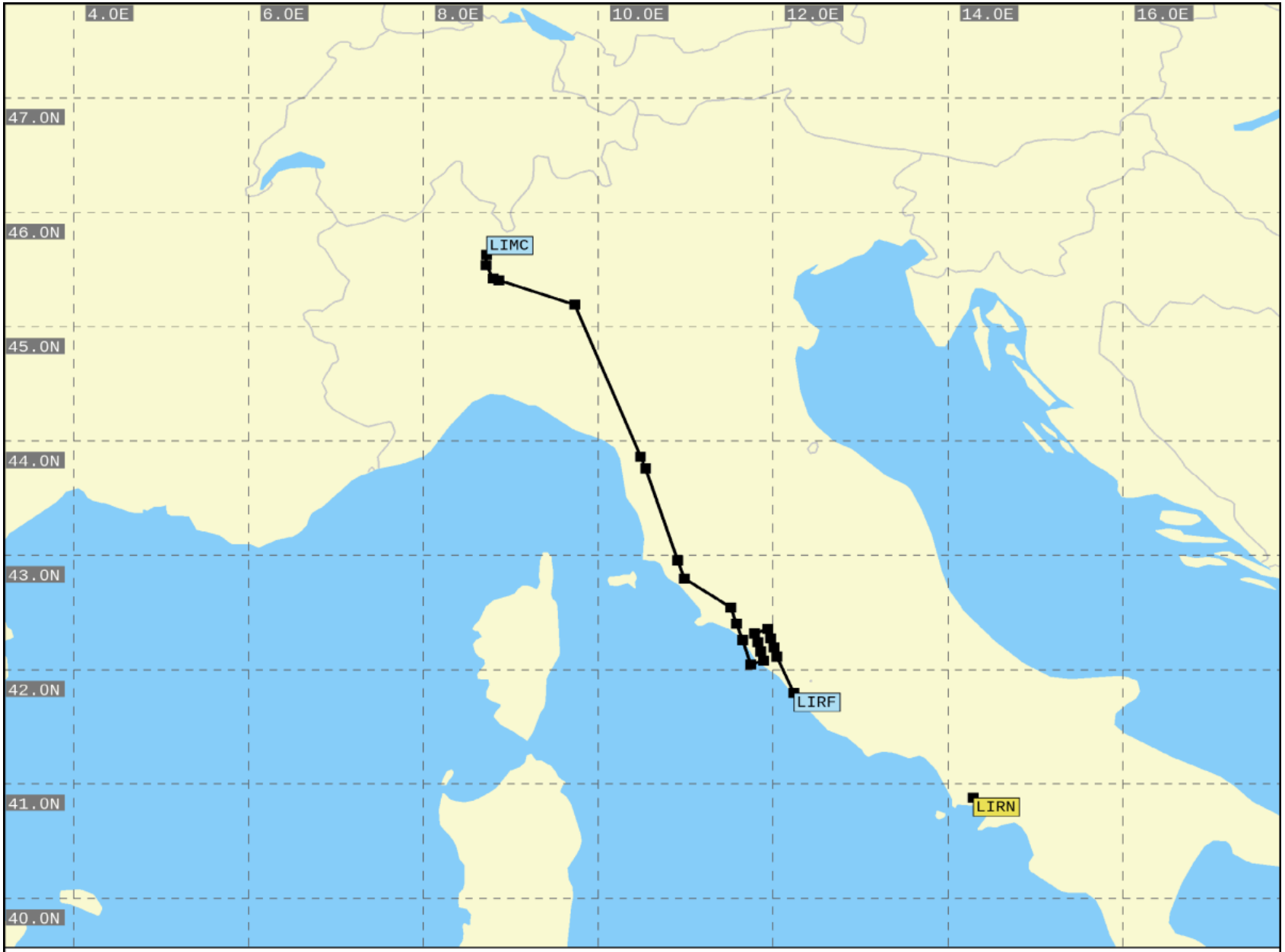

SIG WX FL 250-630 WASHINGTON
VALID 18 UTC ON 25.Apr.2026

Flight: AY1014 Dep / Dest: MXP / FCO

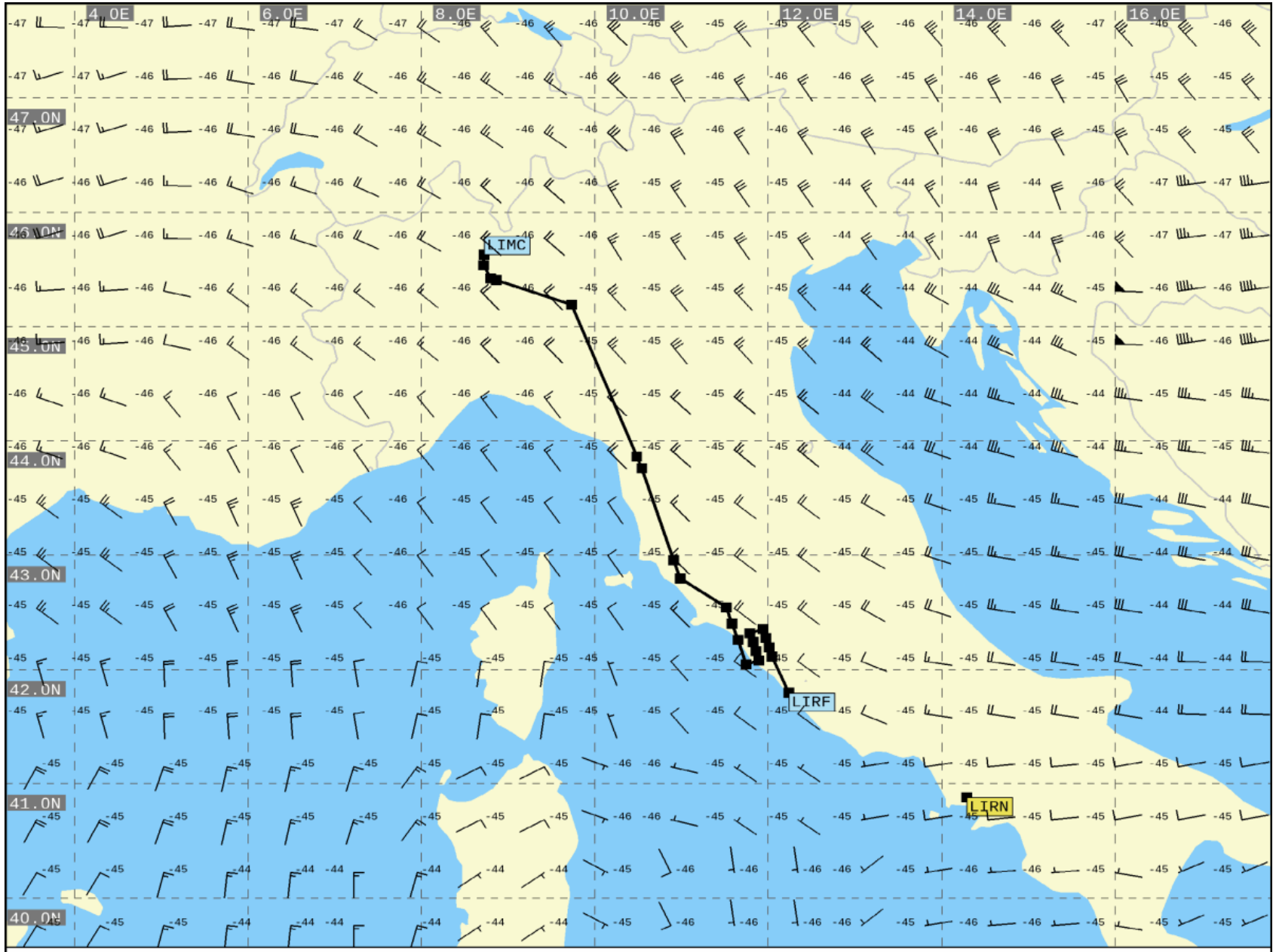

UAD VALID 00 UTC ON 26.Apr.2026 06h FL 300

Flight: AY1014 Dep / Dest: MXP / FCO

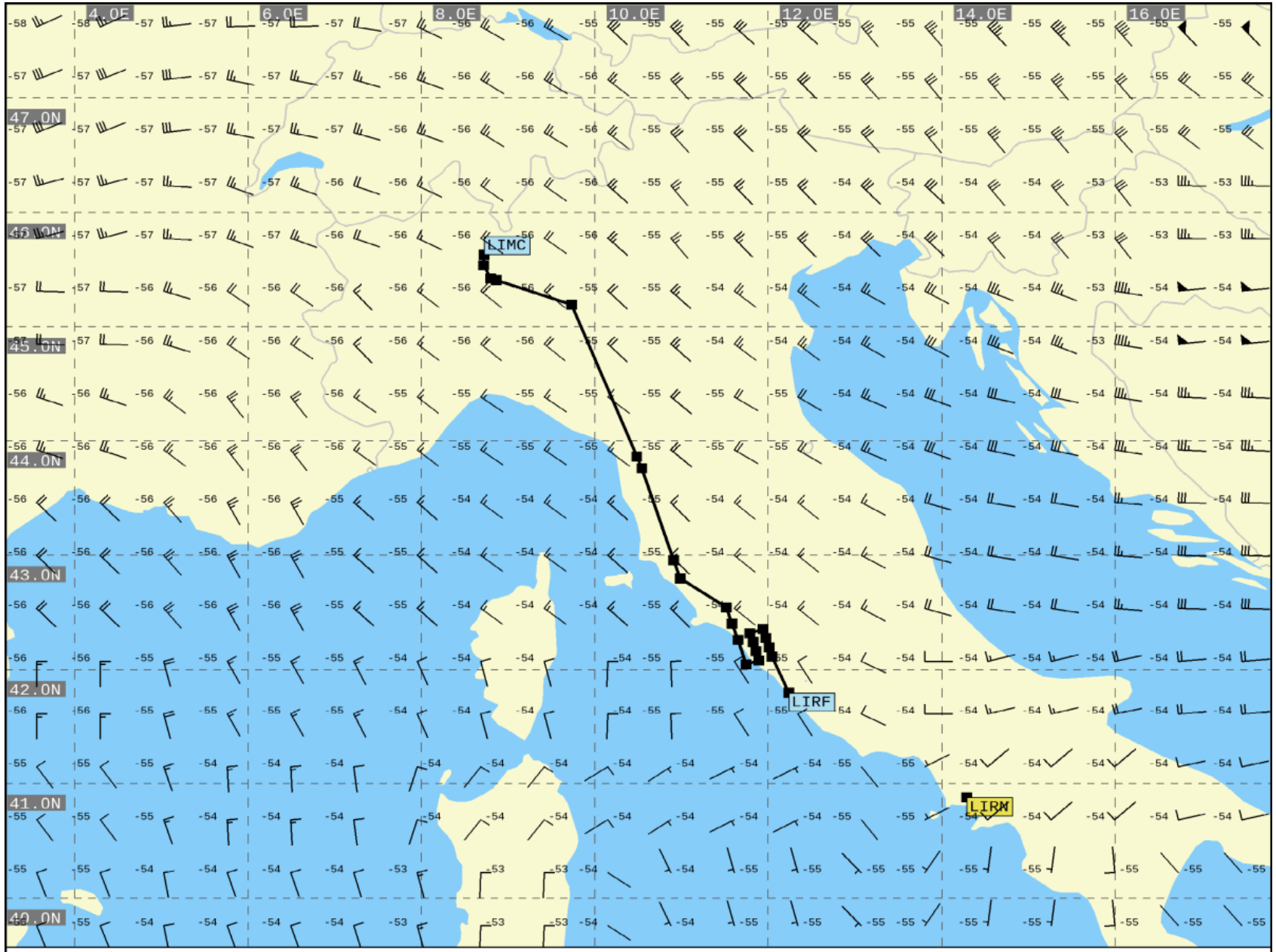

UAD VALID 00 UTC ON 26.Apr.2026 06h FL 340

Flight: AY1014 Dep / Dest: MXP / FCO

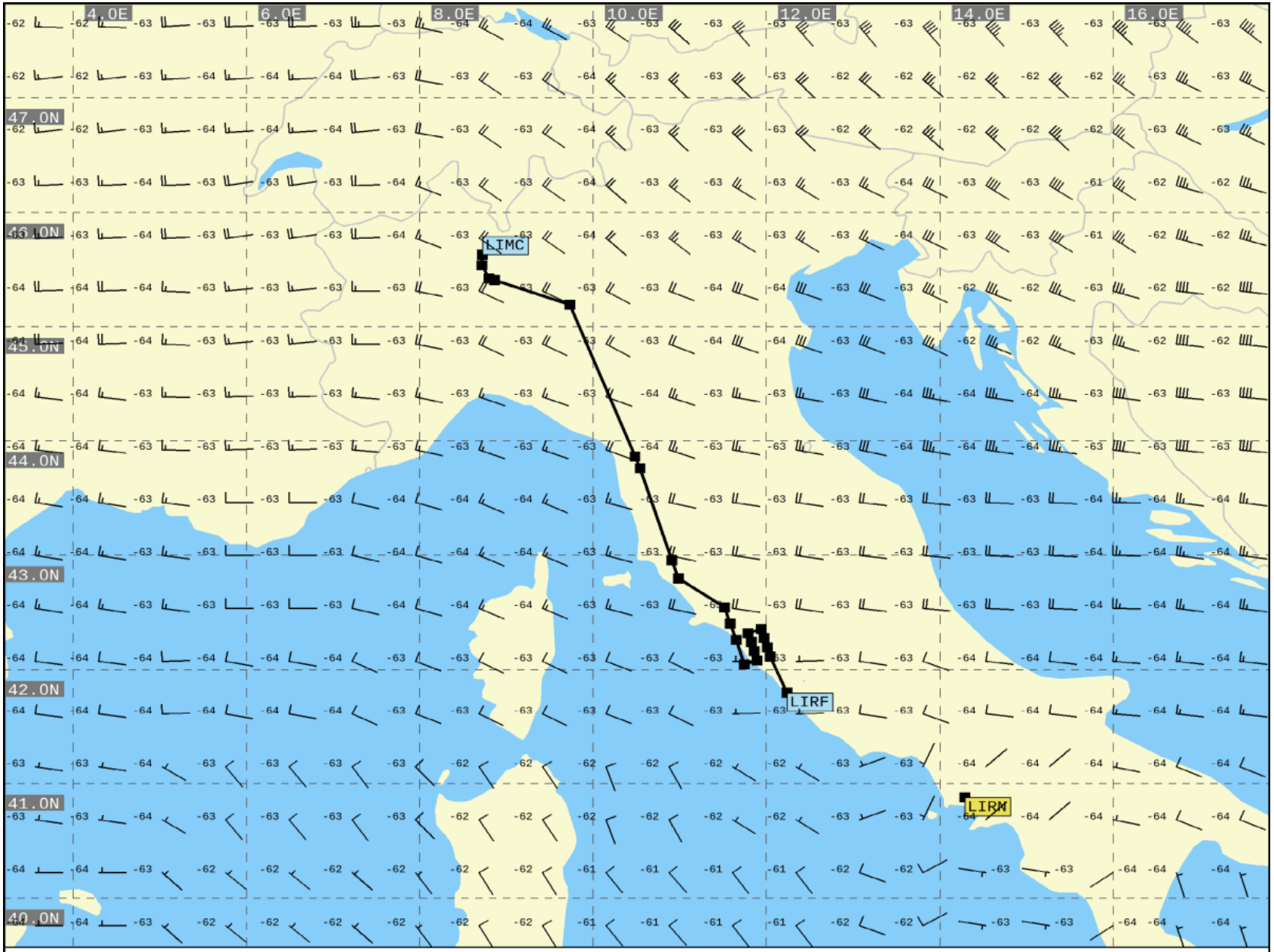

UAD VALID 00 UTC ON 26.Apr.2026 06h FL 390

Flight: AY1014 Dep / Dest: MXP / FCO

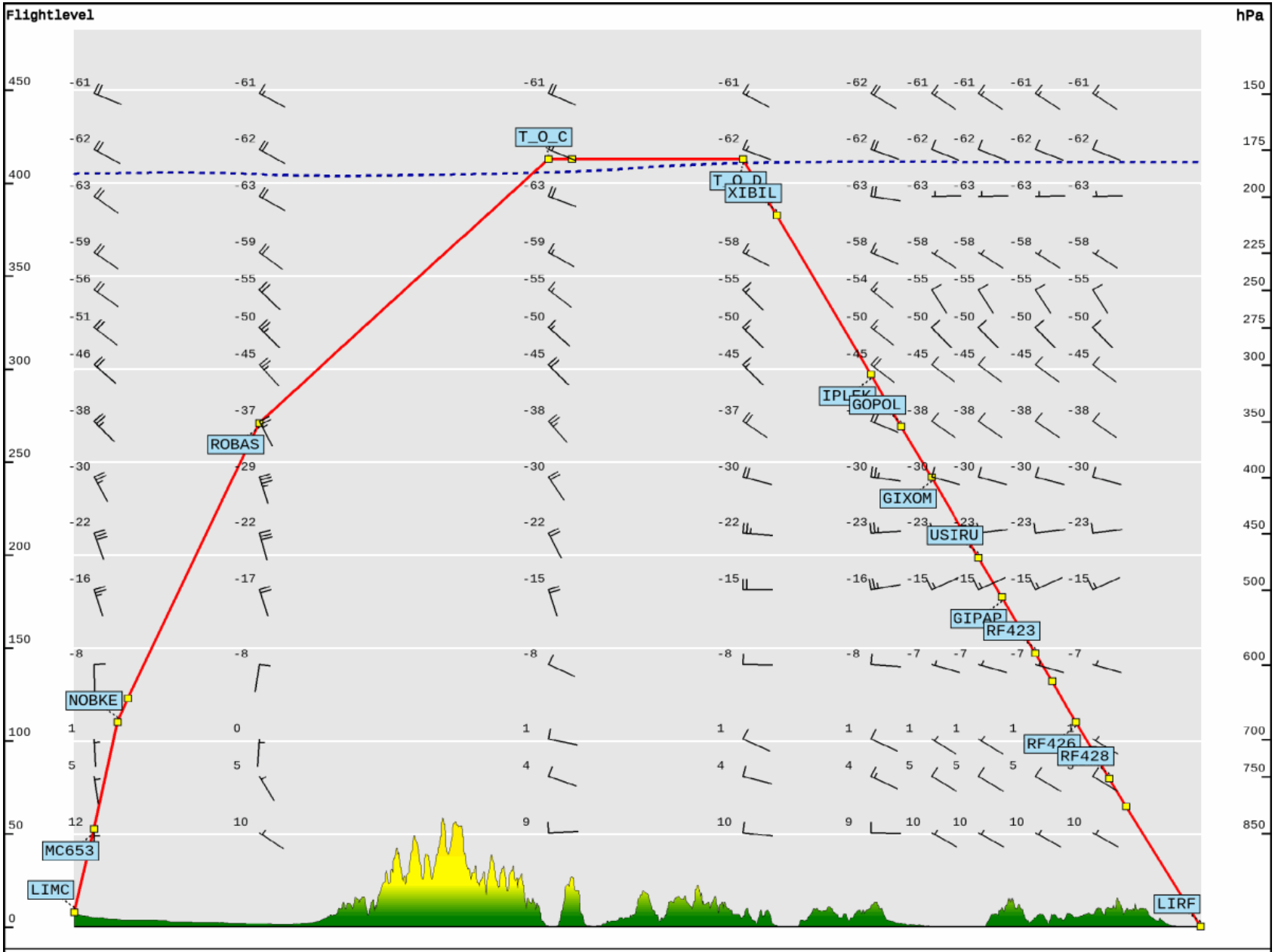

Profile VALID 00 UTC ON 26.Apr.2026 06h Average

Flight: AY1014 Dep / Dest: MXP / FCO

End of Document: Total Number of Pages: 64