```
[ OFP ]
-----------------------------------------------------------------------
FIN1015   26APR2026    LIRF-LEPA   A333 N339SB  RELEASE 1053 26APR26
OFP 1             FIUMICINO-PALMA DE MALLORCA
                        WX PROG 2609 2612 2615   OBS 2606 2606 2606

  ATC C/S   FIN1015      LIRF/FCO   LEPA/PMI      CRZ SYS      CI 10
26APR2026   N339SB       1125/1145  1256/1304     GND DIST       464
A330-300 / TRENT 772                STA  1325     AIR DIST       474
                        CTOT:....                 G/C DIST       453
                                                  AVG WIND   263/009
MAXIMUM    TOW 233000  LAW 187000  ZFW 175000     AVG W/C       M009
ESTIMATED  TOW 167709  LAW 161282  ZFW 154741     AVG ISA       M002
                                                  AVG FF KGS/HR 5398
                                                  FUEL BIAS    P00.0
ALTN LEBL                                         TKOF ALTN  .......
FL STEPS LIRF/0390/
-----------------------------------------------------------------------
DISP RMKS   NIL

-----------------------------------------------------------------------
         PLANNED FUEL
----------------------------------
FUEL           ARPT   FUEL   TIME
----------------------------------
TRIP            PMI   6427   0111
CONT 15 MIN           1350   0015
ALTN            BCN   2997   0033
FINRES                2194   0030
----------------------------------
MINIMUM T/OFF FUEL   12968   0230
----------------------------------
EXTRA                    0   0000
----------------------------------
T/OFF FUEL           12968   0230
TAXI            FCO    544   0020
----------------------------------
BLOCK FUEL      FCO  13512
PIC EXTRA            .....
TOTAL FUEL           .....
REASON FOR PIC EXTRA ............
-----------------------------------------------------------------------
FMC INFO:
FINRES+ALTN           5191
TRIP+TAXI             6971
-----------------------------------------------------------------------
NO TANKERING RECOMMENDED (P)
-----------------------------------------------------------------------
I HEREWITH CONFIRM THAT I HAVE PERFORMED A THOROUGH SELF BRIEFING
ABOUT THE DESTINATION AND ALTERNATE AIRPORTS OF THIS FLIGHT
INCLUDING THE APPLICABLE INSTRUMENT APPROACH PROCEDURES, AIRPORT
FACILITIES, NOTAMS AND ALL OTHER RELEVANT PARTICULAR INFORMATION.

DISPATCHER: GLEN HUBBARD                PIC NAME: GM, PAYAM

TEL: +1 800 555 0199               PIC SIGNATURE: ...............
```

```
ALTERNATE ROUTE TO:                                          FINRES   2194
APT      TRK DST              VIA                        FL  WC  TIME  FUEL
-----------------------------------------------------------------------
LEBL/24R 344 148  ESPOR3Z ESPOR L2 NEPAL                180 P005 0033  2997
                  NEPAL2W
-----------------------------------------------------------------------

MEL/CDL ITEMS DESCRIPTION
------------- -----------

-----------------------------------------------------------------------

ROUTING:

ROUTE ID: DEFRTE
LIRF/25 ESINO8H ESINO DCT ABIDU DCT OKIDO DCT KOLUS DCT GOKMI DCT
SUPUX DCT KUPIM DCT SUXER DCT RIPAL DCT MORSS MORSS3P LEPA/24L

-----------------------------------------------------------------------
DEPARTURE ATC CLEARANCE:
.
.
.
-----------------------------------------------------------------------
                         OPERATIONAL IMPACTS
                         -------------------
WEIGHT CHANGE UP 1.0          TRIP  M 0021 KGS   TIME M 0000
WEIGHT CHANGE DN 1.0          TRIP  P 0006 KGS   TIME P 0000
FL CHANGE     UP FL1                 NOT AVAILABLE
FL CHANGE     DN FL1          TRIP  P 0063 KGS   TIME P 0000
FL CHANGE     DN FL2          TRIP  P 0086 KGS   TIME P 0000
SPD CHANGE    CI 0            TRIP  P 0002 KGS   TIME P 0000
SPD CHANGE    CI 300          TRIP  P 0129 KGS   TIME M 0001
-----------------------------------------------------------------------
```

```
-----------------------------------------------------------------------
ATIS:
.
.
--------- --------- --------- --------- --------- --------- --------
RVSM: ALT SYS  LEFT:             STBY:             RIGHT:

--------- --------- --------- --------- --------- --------- --------
-----------------------------------------------------------------------
                                TIMES
                                -----

               ESTIMATED        SKED              ACTUAL

OUT            1125Z/1325L      1125Z/1325L       ......Z

OFF            1145Z/1345L      1145Z/1345L       ......Z

ON             1256Z/1456L      1317Z/1517L       ......Z

IN             1304Z/1504L      1325Z/1525L       ......Z

BLOCK TIME     0139             0200              ......

-----------------------------------------------------------------------
                               WEIGHTS
                               -------

                EST      MAX     ACTUAL

PAX             263              ......

BAG/CARGO       6.6              ......

PAYLOAD        27.4              ......

ZFW           154.7    175.0     ......

FUEL           13.5     39.2     ......  POSS EXTRA 25.7

TOW           167.7    193.4  LDG......

STAB TRIM                        ......

LAW           161.3    187.0     ......

-----------------------------------------------------------------------
                       TERRAIN CLEARANCE CHECK
                       -----------------------
DD CHECK - TERRAIN CLEARANCE CHECK DISABLED

DP CHECK - TERRAIN CLEARANCE CHECK DISABLED
-----------------------------------------------------------------------
```

FLIGHT LOG

MOST CRITICAL MORA 05500 FEET AT KOLUS///MXSHR 02 AT OKIDO

AWY POSITION IDENT FREQ	LAT LONG	EET TTLT	ETO ATO	FL MORA DIS	IMT ITT RDIS	MN TAS GS	WIND COMP SHR	OAT TDV TRP	EFOB AFOB	PBRN ABRN
					249				13.0	0.5
FIUMICINO	N4148.0		...	20	251		M005			
LIRF	E01214.3	0000	...		464	253			....	....
ESI8H				018	264	.39	280/006	15	12.5	1.0
RF777	N4147.6	0001	...	20	267		M005	P04		
RF777	E01212.6	0001	...	1	463	253		396	....	....
ESI8H				035	219	.40	292/005	12	12.4	1.1
RF787	N4147.5	0000	...	20	222		M005	P04		
RF787	E01209.1	0001	...	3	460	260		396	....	....
ESI8H				097	176	.45	359/002	01	12.0	1.6
RF789	N4142.3	0002	...	20	180		P001	P05		
RF789	E01202.6	0003	...	7	453	293		396	....	....
ESI8H				124	214	.57	290/004	M04	11.7	1.8
SOSAK	N4137.2	0001	...	20	218		P001	P06		
SOSAK	E01202.6	0004	...	5	448	367		396	....	....
ESI8H				134	214	.58	281/006	M06	11.6	1.9
TORLI	N4135.8	0000	...	20	218		M003	P06		
TORLI	E01201.1	0004	...	2	446	369		396	....	....
ESI8H				204	246	.67	310/010	M21	11.0	2.5
ESINO	N4123.1	0003	...	20	250		P000	P05		
ESINO	E01147.7	0007	...	16	430	417		399	....	....
DCT				367	246	.80	270/012	M59	9.6	3.9
ABIDU	N4059.3	0009	...	20	249		M011	M02		
ABIDU	E01022.2	0016	...	69	361	445		397	....	....
DCT				390	247	.80	270/016	M62	9.4	4.2
T O C	N4053.6	0001	...	23	249	453	M015	M05		
	E01002.5	0017	...	16	345	438	1	397	....	....
DCT				390	245	.79	270/016	M62	9.2	4.3
OKIDO	N4049.8	0002	...	49	248	448	M015	M05		
OKIDO	E00949.4	0019	...	11	334	433	2	397	....	....
DCT				390	250	.79	268/017	M62	9.0	4.5
KOLUS	N4043.1	0003	...	55	253	448	M016	M05		
KOLUS	E00926.5	0022	...	19	315	432	1	395	....	....
DCT				390	263	.79	257/017	M62	8.5	5.0
GOKMI	N4026.3	0008	...	20	265	448	M017	M05		
GOKMI	E00814.4	0030	...	57	258	431	1	390	....	....

```
AWY                                FL   IMT   MN    WIND  OAT  EFOB  PBRN
POSITION    LAT      EET ETO MORA  ITT  TAS    COMP  TDV
IDENT       LONG    TTLT ATO DIS  RDIS   GS     SHR  TRP  AFOB  ABRN
FREQ
-----------------------------------------------------------------------
DCT                               390   258  .79 257/018  M62   8.4   5.2
SUPUX       N4025.5 0001 ...  20   260  448    M018  M05
SUPUX      E00800.0 0031 ...  11   247  430       1  390  ....  ....

FRANCE FIR/UIR
-LFFF       N4025.5 0000 ...
           E00800.0 0031 ...   0   247

DCT                               390   257  .79 247/016  M62   8.0   5.5
KUPIM       N4020.1 0005 ...  20   260  448    M016  M05
KUPIM      E00717.9 0036 ...  33   214  432       2  390  ....  ....

DCT                               390   257  .79 250/015  M62   7.3   6.2
SUXER       N4008.1 0009 ...  20   259  448    M015  M05
SUXER      E00551.5 0045 ...  67   147  433       2  387  ....  ....

DCT                               390   258  .79 251/015  M62   7.1   6.4
T O D       N4005.6 0002 ...  20   259  447    M015  M05
           E00533.5 0047 ...  14   133  432       2  387  ....  ....

DCT                               282   253  .79 058/005  M41   7.0   6.5
RIPAL       N3958.7 0006 ...  20   255         P005  P00
RIPAL      E00446.3 0053 ...  37    96  479          387  ....  ....

DCT                               267   253  .77 061/005  M37   7.0   6.5
MORSS       N3957.4 0001 ...  25   255         P005  P01
MORSS      E00440.0 0054 ...   5    91  468          386  ....  ....

BARCELONA FIR/UIR
-LECB       N3957.4 0000 ...
           E00440.0 0054 ...   0    91

MORSS3P                           205   252  .67 076/006  M21   7.0   6.6
MENORCA     N3951.8 0003 ...  25   254         P006  P05
MHN        E00413.0 0057 ...  21    70  424          386  ....  ....
112.60

MORSS3P                           155   252  .60 055/008  M08   6.9   6.6
CDP073020   N3947.2 0002 ...  25   254         P008  P08
D073T      E00351.0 0059 ...  17    53  395          386  ....  ....

MORSS3P                           097   253  .45 063/010   02   6.8   6.7
CAPDEPERA   N3941.9 0004 ...  36   254         P010  P06
CDP        E00326.1 0103 ...  20    33  303          384  ....  ....
112.90

MORSS3P                                                   6.5   7.0
PALMA DE MA N3933.1 0008 ...
LEPA       E00244.3 0111 ...  33                       ....  ....
```

WIND INFORMATION

CLIMB	T O C	OKIDO	KOLUS
350 272/008 -56	430 275/021 -60	430 275/021 -60	430 274/020 -60
310 021/003 -48	410 273/018 -61	410 273/019 -61	410 272/018 -61
200 321/018 -20	390 270/016 -62	390 270/016 -62	390 268/017 -62
150 285/009 -10	370 270/013 -59	370 270/013 -59	370 267/013 -60
100 354/002 +01	350 270/009 -56	350 270/009 -56	350 266/010 -56

GOKMI	SUPUX	KUPIM	SUXER
430 272/019 -60	430 272/019 -60	430 262/020 -59	430 265/020 -59
410 265/018 -61	410 265/018 -61	410 255/018 -61	410 259/017 -61
390 257/018 -62	390 257/018 -62	390 247/016 -62	390 251/015 -62
370 263/013 -59	370 263/013 -59	370 248/011 -60	370 251/010 -60
350 282/008 -56	350 282/008 -56	350 257/006 -57	350 258/004 -57

T O D	DESCENT
430 265/020 -59	350 228/003 -57
410 259/017 -61	310 055/004 -48
390 251/015 -62	200 076/006 -20
370 251/010 -60	150 051/008 -07
350 258/004 -57	100 062/010 +02

[ATC Flight Plan]

ICAO FLIGHT PLAN

```
FF LIRRZQZX LFFFZQZX LECBZQZX
261053 CYULSBFP
(FPL-FIN1015-IS
-A333/H-SDE3GHIJ2J3J5M1RVWXY/LB2D1
-LIRF1125
-N0448F390 ESINO8H ESINO DCT ABIDU DCT OKIDO DCT KOLUS DCT GOKMI DCT
 SUPUX DCT KUPIM DCT SUXER DCT RIPAL DCT MORSS MORSS3P
-LEPA0101 LEBL
-PBN/A1B1C1D1O1S2 DOF/260426 REG/N339SB EET/LFFF0031 LECB0054
 OPR/FIN PER/C RMK/TCAS)
```

[Additional Info]

D I S P A T C H B R I E F I N G I N F O AY1015 LIRF/LEPA

[Runway Analysis]

```
----------------------------------------------------------------------

TAKEOFF AND LANDING REPORT FIN 1015 LIRF-LEPA 26APR26
TLR-1 SEQ-170826398 26APR26 1053Z
A/C N339SB  A330-300 TRENT 772  BEW/CG 127303/.....

/// TAKEOFF DATA ///

APT   PRWY  POAT PWIND  PQNH  PMRTW FLP MT V1 VR V2 PTOW MFPTW LIMIT
LIRF  25    20.0 257M08 1019  2330  1   54 27 27 38 1677 1934  AFM

RMKS FLEX - SEL TEMP 54
     BLEEDS ON

---- ---- ------ ----- ------- --- --- --- --- --- -----------------
RWY  OAT  WIND   QNH   MRTW    FLP V1  VR  V2  PWR CONFIG/CONDITION

--------------------------- ACARS RUNWAYS --------------------------
RWY          ACARS  LENGTH PMTOW NOTES
07                   9787  2304
16L                 12802  2330 ILS 108.10
16R                 12802  2330 ILS 109.75
25                  10466  2330 ILS 110.15
34L                 12802  2330 ILS 108.90
34R                 12802  2330 ILS 111.55

-------------------- DRY RWY - PTOW - CALM WIND --------------------
RWY          MTOW MT CONFIG                   FLP  V1  VR  V2  LIMIT
07           2330 54 FLEX - BLEEDS ON           1 127 127 138  AFM
16L          2330 54 FLEX - BLEEDS ON           1 127 127 138  AFM
16R          2330 54 FLEX - BLEEDS ON           1 127 127 138  AFM
25           2330 54 FLEX - BLEEDS ON           1 127 127 138  AFM
34L          2330 54 FLEX - BLEEDS ON           1 127 127 138  AFM
34R          2330 54 FLEX - BLEEDS ON           1 127 127 138  AFM

--------------- DRY RWY - PTOW PLUS 4000 - CALM WIND ---------------
RWY          MTOW MT CONFIG                   FLP  V1  VR  V2  LIMIT
07           2330 54 FLEX - BLEEDS ON           1 128 128 138  AFM
16L          2330 54 FLEX - BLEEDS ON           1 128 128 138  AFM
16R          2330 54 FLEX - BLEEDS ON           1 128 128 138  AFM
25           2330 54 FLEX - BLEEDS ON           1 128 128 138  AFM
34L          2330 54 FLEX - BLEEDS ON           1 128 128 138  AFM
34R          2330 54 FLEX - BLEEDS ON           1 128 128 138  AFM

-------------------- WET RWY - PTOW - CALM WIND --------------------
RWY          MTOW MT CONFIG                   FLP  V1  VR  V2  LIMIT
07           2330 54 FLEX - BLEEDS ON           1 127 127 138  AFM
16L          2330 54 FLEX - BLEEDS ON           1 127 127 138  AFM
16R          2330 54 FLEX - BLEEDS ON           1 127 127 138  AFM
25           2330 54 FLEX - BLEEDS ON           1 127 127 138  AFM
34L          2330 54 FLEX - BLEEDS ON           1 127 127 138  AFM
34R          2330 54 FLEX - BLEEDS ON           1 127 127 138  AFM
```

```
--------------- WET RWY - PTOW PLUS 4000 - CALM WIND ---------------
RWY          MTOW MT CONFIG                    FLP  V1  VR  V2  LIMIT
07           2330 54 FLEX - BLEEDS ON            1 128 128 138  AFM
16L          2330 54 FLEX - BLEEDS ON            1 128 128 138  AFM
16R          2330 54 FLEX - BLEEDS ON            1 128 128 138  AFM
25           2330 54 FLEX - BLEEDS ON            1 128 128 138  AFM
34L          2330 54 FLEX - BLEEDS ON            1 128 128 138  AFM
34R          2330 54 FLEX - BLEEDS ON            1 128 128 138  AFM

/// LANDING DATA ///

APT   PRWY  POAT PWIND  PQNH  PMRLW FLP  PLDW  LIMIT
LEPA  24L   21.0 219M10 1019  1870  FULL 1613  AFM

RMKS NONE

-------- ---- ------ ----- ------- --- ----- --- -------------------
RWY      OAT  WIND   QNH   MRLW    FLP VREF  PWR CONFIG/CONDITION

---------------------------- ACARS RUNWAYS --------------------------
RWY          ACARS  LENGTH PMRLW NOTES
06L                 10728  1870 ILS 110.90
06R                  8497  1870
24L                  9843  1870 ILS 109.30
24R                 10499  1870 ILS 109.90

------------- FLAPS FULL - PACKS ON - NO ENROUTE ICING -------------
DRY RWY / WET RWY
            06L            06R            24L            24R
  OAT       10728 FT       8497 FT        9843 FT        10499 FT
   16       1870A/1870A    1870A/1870A    1870A/1870A    1870A/1870A
 / 21       1870A/1870A    1870A/1870A    1870A/1870A    1870A/1870A
   26       1870A/1870A    1870A/1870A    1870A/1870A    1870A/1870A
HW/10KT         0/    0        0/    0        0/    0        0/    0
TW/10KT         0/    0        0/    0        0/    0        0/    0

-------- LANDING DISTANCE - FLAPS FULL - MAX MANUAL BRAKING --------
                  ACTUAL            FACTORED
  LDW     VREF     DRY      WET      DRY      WET
  1580    126     3295     4159     4351     5345
  1600    126     3295     4159     4351     5345
/ 1620    127     3322     4193     4393     5394
  1640    128     3349     4226     4435     5444
  1660    128     3376     4261     4477     5494
HW/KT              -20      -25      -23      -28
TW/KT               60       76       89      107

END TAKEOFF AND LANDING REPORT FIN 1015 LIRF-LEPA 26APR26
```

[Airport WX List]

```
-----------------------------------------------------------------------
LIRF --> LEPA    AY  1015 / 26APR2026
LIDO/WEATHER SERVICE       DATE : 26Apr2026   TIME : 10:53 UTC

AIRMETs:
  No Wx data available

SIGMETs:
  No Wx data available

Tropical Cyclone SIGMETs:
  No Wx data available

Volcanic Ash SIGMETs:
  No Wx data available

Departure:
LIRF/FCO  FIUMICINO
  SA  261020  26008KT 230V290 CAVOK 20/13 Q1019 NOSIG
  FT  260500  2606/2712 VRB05KT CAVOK
              BECMG 2609/2611 26012KT
              BECMG 2618/2620 VRB05KT
              TEMPO 2701/2706 2000 BCFG

Destination:
LEPA/PMI  PALMA DE MALLORCA
  SA  261030  23012KT 200V260 CAVOK 21/09 Q1019 NOSIG
  FT  260558  2606/2706 VRB04KT 9999 FEW020 TX23/2612Z TN10/2705Z
              BECMG 2609/2611 22010KT
              BECMG 2617/2620 04004KT

Destination Alternates:
LEBL/BCN  JOSEP TARRADELLAS/EL PRAT
  SA  261030  13004KT 070V170 CAVOK 21/16 Q1019 NOSIG
  FT  260500  2606/2706 22005KT 9999 FEW020 TX23/2612Z TN14/2705Z
              PROB40 TEMPO 2606/2608 30007KT
              TEMPO 2610/2618 22010KT
              PROB40 TEMPO 2700/2706 30007KT


  AIRPORTLIST ENDED
```

[NOTAM]

LIDO-NOTAM-BULLETIN INCLUDES NOTAM, COMP NOTAM AND AIP-REGULATION
VALID: 2604261125 - 2604261638 STD(EOBT)+TRIP+ALTN+3HRS
FIN 1015 /26APR OFP-NR: 1
ROUTE: LIRF - LEPA ALTN: LEBL
N0448F390 ESINO8H ESINO DCT ABIDU DCT OKIDO DCT KOLUS DCT GOKMI DCT SUPUX DCT KUPIM DCT SUXER DCT RIPAL DCT MORSS MORSS3P

==========
DEPARTURE AIRPORT - DETAILED INFO
==========

LIRF/FCO FIUMICINO

++++++++++++++++++++++++++++ AIRPORT ++++++++++++++++++++++++++++++

A1971/26 VALID: 26-APR-26 1200 - 26-APR-26 1900
METAR AUTO PROVIDED.
LOCAL ROUTINE REPORTS (MET REPORT) AND LOCAL REPORTS (SPECIAL) NOT **AVBL**.
MET INFO ONLY BY MEASURED DATA, NO SIGNIFICANT CHANGES PROVIDED.
VISIBILITY AND HEIGHT OF CLOUD BASE DATA ARE REPRESENTATIVE OF THE INSTRUMENT INSTALLATION LOCATION.
LIMITED PRESENT WEATHER INFORMATION PROVIDED BY ATC ONLY ON PILOTS REPORTS.
ATC MAY REQUIRE PILOTS TO REPORT METEOROLOGICAL CONDITIONS OR PHENOMENA OBSERVED
REF AIP GEN 3.5-8 AND GEN 3-5.28
A1967/26
ACFT STAND '509' **CLOSED**.
RMK: ICAO SGL PROVIDED
REF AIP **AD** 2 LIRF 2-7
A1962/26
LATINA **VOR/DME** 'LAT' 111.20MHZ CH 49X
REMOTE STATUS INDICATOR **NOT AVAILABLE**.
REF AIP **AD** 2 LIRF 1-24
A1924/26
ACFT STANDS 610 AND 611 **CLSD**
RMK: ICAO SIGNALS PROVIDED
REF AIP **AD** 2 LIRF 2-7
A1043/26
TRIGGER NOTAM-PERM AIP AIRAC AMDT 4/26 EFFECTIVE DATE 16 APR 2026
ROMA/FIUMICINO **AD**
UPDATE OF THE FOLLOWING AERODROME CARTOGRAPHY:
-LOW VISIBILITY PROCEDURES CHART
-HOTSPOT MAP
-AIRCRAFT PARKING DOCKING CHART AND REMARKS
CHG OF INFO PUBLISHED IN **AD** 2 SECTION, PAGES 1-1 AND FLW
AIRAC IS POSTED AND **AVBL** ON WEBSITE WWW.ENAV.IT

A1803/26
SUP (S16/26) IN FORCE FM 19 MAR 2026 TO 31 MAR 2027
'AD ROMA/FIUMICINO (LIRF) : TEMPORARY CRANES AND VARIATION OF OCA (OCH)'.
TEMPORARY CRANES PENETRATING HINNER HORIZONTAL SURFACE WILL BE ERECTED AS FLW:
- CRANES 5, 6, 7, 8, 9 AND 11.
RMK: THE PRESENCE OF CRANE RESULTS IN RAISED MINIMUM ALTITUDES AND PROCEDURES AS DESCRIBED IN THE SUPPLEMENT
REF AIP **AD** 2 LIRF 3-7 AND SUP S16/26

A1777/26
OPERATIONAL TRIAL CRITERIA FOR **RUNWAY** SELECTION AND THEIR USE.
IN ORDER TO CHANGE THE **RUNWAY** CONFIGURATION FROM THE PREFERENTIAL ONE, ATC WILL CONSIDER THE FOLLOWING ITEMS:
- **RWY** AND **TWY** AVAILABILITY,
- INSTRUMENT APPROACH PROCEDURES AND AVAILABILITY OF APPROACH AND LANDING AIDS,
- SIGNIFICANT METEOROLOGICAL CONDITIONS (SURFACE TAILWIND COMPONENT EXCEEDING 8 KNOTS OF STEADY WIND FOR AT LEAST 10 MINUTES EXCLUDING GUSTS, SURFACE CROSSWIND COMPONENT EXCEEDING 30 KNOTS, EXCLUDING GUSTS, WINDSHEAR REPORTED OR FORECAST, THUNDERSTORMS THAT MAY AFFECT THE APPROACH OR DEPARTURE PHASES, WET **RUNWAY** CONDITIONS
OR POOR BRAKING ACTION)
- THE SURFACE WIND COMPONENTS ARE NOT TO BE INTENDED AS OPERATIONAL LIMITS, BUT RATHER AS GUIDELINES FOR ATC **RUNWAY** SELECTION
- THE **RUNWAY** CONFIGURATION IN USE 34R MAY BE CHANGED TO CONFIGURATION 16L WHEN THE SURFACE WIND COMPONENT FROM THE NORTHERN QUADRANTS IS FOR AT LEAST 10 MINUTES STEADILY BELOW 8 KNOTS.
- IT SHOULD BE NOTED THAT WHILE THE TWR PREPARES THE NEW **RUNWAY** CONFIGURATION BASED ON THE CONDITIONS, THE ACTUAL CHANGE OF CONFIGURATION MAY TAKE PLACE LATER, WHEN CURRENT TRAFFIC CONDITIONS PERMIT.
REF AIP AD2 LIRF 1-26 ITEM 20 POINT 1.2 PARAGRAPH D

A1683/26
ACFT STANDS 835 AND 836 **CLOSED**.
REF AIP **AD** 2 LIRF 2-7

A1661/26
AD OPERATOR, ON TRIAL BASE AND TO IMPROVE SITUATIONAL AWARENESS, WILL CARRY OUT VEHICLE **RWY** SAFETY INSPECTION PERFORMING GROUND TO GROUND COMMUNICATION ON TWR FREQ ASSOCIATED WITH OPS FOR EACH **RWY**.
RMK: RADIOTELEPHONY CALL SIGN ASSIGNED TO **AD** OPERATOR WILL BE 'SAR' FOLLOWED BY TWO DIGIT NUMBERS.
REF AIP **AD** 2 LIRF 1-23

A1538/26
AERODROME CONTROL SERVICE.
GROUND MOVEMENT CONTROL RWY16L/34R PROVIDED BY USE OF MULTILATERATION AND ADS-B DUE TO UNAVAILABIILITY OF SMR FOR MAINT. REF AIP **AD** 2 LIRF 1-34

A1503/26
NEW TREE OBSTACLE ERECTED PENETRATING APPROACH **RWY 16R** AS FLW :
- PSN (WGS84) 414970.7N 0121321.4E
ELEV AGL 19.0M/62.3FT AMSL 19.0M/62.3FT
REF AIP **AD** 2 LIRF 3-7

A1502/26
NEW POLE OBST ERECTED PENETRATING TAKE-OFF FLIGHT PATH AREA (TOFPA) RWY16L AS FLW:
PSN COORD (WGS-84): 414832.0N 0121633.4E
ELEV AGL 6.0M/19.7FT
ELEV AMSL 7.0M/23.0FT
REF AIP **AD** 2 LIRF 3-7

A1501/26
NEW POLE OBSTACLE ERECTED PENETRATING TAKE-OFF FLIGHT PATH AREA (TOFPA) AND TAKE-OFF CLIMB SURFACE (TOCS) RWY25 AS FLW:
- PSN (WGS84) 414752.4N 0121348.7E
ELEV AGL 5.0M/16.4FT
ELEV AMSL 5.0M/16.4FT
REF AIP **AD** 2 LIRF 3-7

A1500/26
NEW POLE OBST ERECTED PENETRATING TAKE-OFF FLIGHT PATH AREA (TOFPA) RWY34L AS FLW:
PSN COORD (WGS-84): 414950.8N 0121327.1E
ELEV AGL 5.0M/16.4FT
ELEV AMSL 6.0M/19.7FT
PSN COORD (WGS-84): 414960.9N 0121330.3E
ELEV AGL 7.0M/23.0FT
ELEV AMSL 7.0M/23.0FT
REF AIP **AD** 2 LIRF 3-7

A1499/26
NEW POLE OBSTACLE ERECTED PENETRATING TAKE-OFF FLIGHT PATH AREA (TOFPA) RWY16R AS FLW:
- PSN (WGS84) 414620.4N 0121436.1E
ELEV AGL 19.0M/62.3FT, AMSL 20.0M/65.6FT
REF AIP **AD** 2 LIRF 3-7

A1498/26
NEW TREE OBSTACLE ERECTED PENETRATING TAKE-OFF FLIGHT PATH AREA (TOFPA) , TAKE-OFF CLIMB SURFACE (TOCS) RWY16R AND APPROACH **RWY** 34L AS FLW:
- PSN (WGS84) 414623.1N 0121438.0E
ELEV AGL 23.0M/75.4FT AMSL 24M/78.7FT
REF AIP **AD** 2 LIRF 3-7

A1497/26
NEW ANTENNA OBSTACLES ERECTED PENETRATING TAKE-OFF FLIGHT PATH AREA (TOFPA) RWY16R AS FLW:
- PSN (WGS84) 414630.5N 0121432.1E
ELEV AGL 11.0M/36.1FT, AMSL 13.0M/42.6FT
- PSN (WGS84) 414641.2N 0121425.4E
ELEV AGL 7.0M/22.9FT, AMSL 9.0M/29.5FT
REF AIP **AD** 2 LIRF 3-7

A1496/26
NEW TREE OBSTACLE ERECTED PENETRATING TAKE-OFF FLIGHT PATH AREA (TOFPA) AND TAKE-OFF CLIMB SURFACE (TOCS) RWY34L AS FLW:
- PSN (WGS84) 414913.9N 0121330.1E
ELEV AGL 12.0M/39.3FT
ELEV AMSL 12.0M/39.3FT
REF AIP **AD** 2 LIRF 3-7

A1495/26
NEW POLE OBSTACLE ERECTED PENETRATING TAKE-OFF FLIGHT PATH AREA (TOFPA) RWY34R AS FLW:
- PSN (WGS84) 415117.1N 0121536.1E
ELEV AGL 11.0M/36.1FT, AMSL 20.0M/65.6FT
REF AIP **AD** 2 LIRF 3-7

A1494/26
NEW BUILDING OBSTACLES ERECTED PENETRATING TAKE-OFF FLIGHT PATH AREA (TOFPA) RWY34R AS FLW:
- PSN (WGS84) 415113.9N 0121537.4E
ELEV AGL 8.0M/26.2FT, ELEV AMSL 17.0M/55.7FT
- PSN (WGS84) 415120.3N 0121535.9E
ELEV AGL 11.0M/36.1FT, ELEV AMSL 21.0M/68.8FT
- PSN (WGS84) 415120.5N 0121534.6E
ELEV AGL 9.0M/29.5FT, ELEV AMSL 19.0M/62.3FT
REF AIP **AD** 2 LIRF 3-7

A1493/26
NEW TREE OBSTACLE ERECTED PENETRATING TAKE-OFF FLIGHT PATH AREA (TOFPA) RWY16L AS FLW:
- PSN (WGS84) 414821.5N 0121649.0E
ELEV AGL 14.0M/45.9FT
ELEV AMSL 15.0M/49.2FT
REF AIP **AD** 2 LIRF 3-7

A1492/26
NEW TREE OBSTACLE ERECTED PENETRATING TAKE-OFF FLIGHT PATH AREA (TOFPA) RWY07 AS FLW:
- PSN (WGS84) 414849.7N 0121655.1E
ELEV AGL 14.0M/45.9FT, AMSL 15.0M/49.2FT
REF AIP **AD** 2 LIRF 3-7

A1491/26
NEW POLE OBSTACLES ERECTED PENETRATING TAKE-OFF FLIGHT PATH AREA (TOFPA) RWY07 AS FLW:
- PSN (WGS84) 414934.2N 0121939.3E
ELEV AGL 24.0M/78.7FT, AMSL 69.0M/226.3FT
- PSN (WGS84) 414942.5N 0121937.8E
ELEV AGL 24.0M/78.7FT, AMSL 74.0M/242.7FT
- PSN (WGS84) 414948.3N 0121936.1E
ELEV AGL 24.0M/78.7FT, AMSL 74.0M/242.7FT
REF AIP **AD** 2 LIRF 3-7

A1229/26
ANEMOMETER THR RWY07 COMPLETELY **WITHDRAWN**.
DELIVERED WIND DATA FOR THR RWY07 ARE THOSE DETECTED BY ANEMOMETER THR RWY34L
REF AIP GEN 3.5-29

A1022/26
LATINA **VOR/DME** 'LAT' FREQ 111.20 MHZ CH 49X:
- **VOR**
LIMITATIONS BEYOND 15 NM RDL 018 NU
LIMITATIONS BEYOND 29 NM WITHIN 35 NM RDL 024 MRA 14000 FT
LIMITATIONS AT 25 NM
005DEG/110DEG NU
110DEG/130DEG MRA 5000 FT
130DEG/290DEG MRA 2500 FT
290DEG/330DEG MRA 5000 FT
330DEG/005DEG MRA 10000FT
- **DME**
LIMITATIONS BEYOND 15 NM RDL 018 NU
LIMITAZIONI OLTRE/LIMITATIONS BEYOND 17 NM RDL 024 NU
LIMITATIONS AT 25 NM
-005DEG/110DEG NU
-110DEG/130DEG MRA 5000 FT
-130DEG/290DEG MRA 2500 FT
-290DEG/330DEG MRA 5000 FT
-330DEG/005DEG MRA 10000FT
REF AIP **AD** 2 LIRF 1-25 'RADIO NAVIGATION AND LANDING AIDS', COLUMN 7 'DESIGNATED OPERATIONAL COVERAGE LIMITATIONS'

A0615/26
OBSTACLE TREE PENETRATING VISUAL SEGMENT SURFACE **RWY 16R**:
PSN COORD (WGS-84) 414907.3N 0121319.4E
MAX ELEV AMSL 18.2M/59.7FT
VISUAL SEGMENT SURFACE PENETRATION (VSS) 2.6M/8.5FT
REF AIP **AD** 2 LIRF 3-7 (AOC TYPE B NR RF 4/7
A0445/26
NEW OBST MOBILE CRANE ERECTED PENETRATING
INNER HORIZONTAL SURFACE PSN COORD (WGS-84):
414741.5N 0121738.7E
MAX ELEV AGL 45.3M/148.6FT
MAX ELEV AMSL 47.6M/156.2FT
REF AIP AD2 LIRF 3-7 (AOC TYPE B NR RF 4/7

++++++++++++++++++++++++++++++ SID ++++++++++++++++++++++++++++++

A1419/26
SID NORTH AND WEST BOUND 'VELAD 1A'
TO BE CONSIDERED ATC DISCRETION
REF AIP AD2 LIRF 6-37/40

++++++++++++++++++++++ APPROACH PROCEDURES ++++++++++++++++++++++

A1887/26
OUTER MARKER (ILS) RWY16L
INFORMATION ON OPERATIONAL STATUS **NOT AVBL**
REF AIP AD2 LIRF 1-23
A1874/26
OUTER MARKER (ILS) RWY16R. INFORMATION ON OPERATIONAL STATUS NOT
AVBL.
REF AIP AD2 LIRF 1-23
A1739/26
INSTRUMENT APPROACH PROCEDURE **VOR** RWY16R
NEW TREE OBSTACLE PENETRATING VSS VISUAL SEGMENT
SURFACE **AD** FLW:
PSN (WGS84) 414907.8N0121321.4E
ELEV AMSL 19.0M/62.3FT
REF AIP **AD** 2 LIRF 5-19
A1738/26
INSTRUMENT APPROACH PROCEDURE RNP RWY16R
NEW TREE OBSTACLE PENETRATING LNAV AND LNAV/VNAV
VSS VISUAL SEGMENT SURFACE
- PSN (WGS84) 414907.8N0121321.4E
ELEV AMSL 19.0M/62.3FT
REF AIP **AD** 2 LIRF 5-15
A1737/26
INSTRUMENT APPROACH PROCEDURE RNP RWY34R
LPV MINIMA **CAT** D OCA/H TO READ 270/264FT
DUE TO NEW OBSTACLE CRANE ERECTED
REF AIP **AD** 2 LIRF 5-31
A0899/26
SUP S16/26 'TEMPORARY CRANES AND VARIATION OF OCA (OCH)'
IN FORCE FM 19 MAR 2026 TO 31 MAR 2027.
INSTRUMENT APCH PROCEDURE CHART:
- RNP **RWY 25**
ALL VALUES OF MOCA (MINIMUM OBSTACLE CLEARANCE ALTITUDE) IN
PROFILE VIEW SHALL BE RAISED TO THE LOWER ALTITUDE OF THE RELATED
SEGMENT OF THE PROCEDURE

A6814/25
INSTRUMENT APCH PROCEDURE CHART:
- RNP RWY25
ALL VALUES OF MOCA (MINIMUM OBSTACLE CLEARANCE ALTITUDE) IN PROFILE VIEW SHALL BE RAISED TO THE LOWER ALTITUDE OF THE RELATED SEGMENT OF THE PROCEDURE.
REF AIP **AD** 2 LIRF 5-45

==========
DESTINATION AIRPORT - DETAILED INFO
==========

LEPA/PMI PALMA DE MALLORCA

++++++++++++++++++++++++++++ AIRPORT ++++++++++++++++++++++++++++++

R1233/26
SR-SS
UNMANNED ACFT WILL TAKE PLACE WI 500M RADIUS AT 393109N 0024244E
F) SFC G) 00010M AGL
R1166/26
SR-SS
UNMANNED ACFT FLYING WI COORD:
393037N 0023129E - 393037N 0023144E - 393033N 0023143E -
393030N 0023158E - 393018N 0023155E - 393011N 0023139E -
393003N 0023137E - 393006N 0023130E - 393013N 0023124E -
393037N 0023129E
F) GND G) 00120M AGL
R1167/26
SR-SS
UNMANNED ACFT FLYING WI COORD:
393002N 0023201E - 393010N 0023157E - 393027N 0023156E -
393040N 0023224E - 393026N 0023234E - 393010N 0023224E -
393002N 0023201E
F) SFC G) 00120M AGL
R1179/26
SR-SS
UNMANNED ACFT WILL TAKE PLACE WI
393112N 0023156E 393108N 0023207E 393101N 0023207E
393100N 0023159E 393103N 0023159E 393103N 0023155E
393112N 0023156E
F) GND G) 00120M AGL
R1190/26
SR-SS
UNMANNED ACFT WILL TAKE PLACE WI 393115N 0023223E
393101N 0023221E 393100N 0023214E 393101N 0023212E
393106N 0023211E 393109N 0023208E 393113N 0023212E
393117N 0023214E 393116N 0023218E 393115N 0023223E
F) GND G) 00120M AGL
R1189/26
SR-SS
UNMANNED ACFT WILL TAKE PLACE WI COORD:
393033N 0023158E 393028N 0023156E 393028N 0023158E
393029N 0023158E 393029N 0023160E 393030N 0023202E
393029N 0023203E 393032N 0023204E 393033N 0023205E
393033N 0023202E 393033N 0023158E
F) GND G) 00120M AGL

R1224/26
SR-SS
UNMANNED ACFT TAKE PLACE WI 500M RADIUS CENTRED ON
COORD 393254N 0023908E
F) GND G) 00010M AGL
R1221/26
UNMANNED ACFT WILL TAKE PLACE AT:
393347N 0023957E - 393412N 0024008E - 393432N 0024036E - 393431N
0024108E - 393419N 0024120E - 393354N 0024106E - 393336N 0024112E
- 393332N 0024111E - 393347N 0023957E
F) SFC G) 00040M AGL
A1555/26
TRIGGER NOTAM - AIP AIRAC SUP 42/26 WEF 16-APR-26 TO 16-APR-27
EST.
PALMA DE MALLORCA **AD** (LEPA/LESJ).- REHABILITATION WORKS OF GENERAL
AVIATION PRKG 227 TO 230 AND PRKG 123
A1576/26
TRIGGER NOTAM - PERM AIRAC AIP AMDT 03/26 WEF 16-APR-26.
PALMA DE MALLORCA AD.-
-UPDATE OF RAMP AGENT GROUNDFORCE.
-ATS AIRSPACE: REMARKS.
-FLIGHT PROCEDURES. LOW VISIBILITY PROCEDURES
(LVP): DEPARTURES, HOLDING POINTS ACCORDING TO
TAKE-OFF **RUNWAY** TABLE.
-SID, STAR, IAC CHARTS: CODIFICATION CORRECTIONS IN
PROCEDURES TABULAR DESCRIPTION.
-OUTBOUND NOTE WITH TIME AND DISTANCE IN ALL
RNAV HOLDINGS IN ALL RELEVANT CHARTS AND PAGES.
-STAR 2 AND 4 CHARTS: CODIFICATION AND MAX IAS
ADJUSTMENTS IN PLANT AND DETAIL.
-IAC 6 AND 7: DTHR **RWY 06R** REFERENCE
CORRECTION.
IAC 9, 10, 14 AND 15 CHARTS: NOTE MAX IAS IN
MISSED APPROACH ON WPT MJV.
-VAC CHART:
NOTES ABOUT VISUAL ROUTES AND CORRIDORS.
AREA F16.
MAX ALT IN ROUTES SA-SW AND SA-SE.
TMZ AREAS.
FREQUENCY LIMITS.
SYMBOLS
A2688/26
REF SUP AIRAC 42/26, PHASE 1 ACT.
ACFT STAND 226 **CLSD**
A2692/26
REF SUP AIRAC 42/26, PHASE 7 WORKS COMPLETED.
SEE SUP GRAPHICS
A2691/26
REF SUP AIRAC 42/26, FASE 6 WORKS COMPLETED.
SEE SUP GRAPHICS
A2693/26
REF SUP AIRAC 42/26, PHASE 8 WORKS COMPLETED.
SEE SUP GRAPHICS
A2694/26
REF SUP AIRAC 42/26, PHASE 09 WORKS COMPLETED.
SEE SUP GRAPHICS
A2695/26
REF SUP AIRAC 42/26, PHASE 11 WORKS COMPLETED.
SEE SUP GRAPHICS

R0947/26
APR 03 1500-2359, APR 04 0000-1700, APR 17 1600-2359, APR 18 ,
0000-1800, MAY 01 1600-2359, MAY 02 17 30 0000-1800, MAY 15 29 ,
1600-2359, MAY 16 0000-2359, JUN 12 1600-2359, JUN 13 0000-1800
UNMANNED ACFT FLYING WI 120M RADIUS OF 392346N 0024647E
F) GND G) 00120M AGL
A2447/26
REF AIRAC SUP 180/25, PHASE 3 WORKS COMPLETED.
SEE SUP GRAPHICS
A2428/26
REF AIRAC SUP 180/25, PHASE 4 WORKS COMPLETED.
SEE GRAPHICS OF THE SUP
A2406/26
FRICTION MEASURING DEVICE **U/S**
A2372/26
REF AIRAC SUP 180/25 PHASE 5 WORKS COMPLETED.
SEE GRAPHICS OF THE SUP
R0935/26
0900-1900
UNMANNED ACFT WILL FLYING WI 65M RADIUS CENTRED ON COORD
392436.7N
0024808.7E
F) GND G) 00120M AGL
A2267/26
REF SUP AIRAC 15/26 PHASE 3 ACT. ACFT STANDS 23B **CLSD**
A2266/26
REF SUP AIRAC 15/26 PHASE 2 ACT. ACFT STANDS 23A **CLSD**
A2263/26
REF SUP 221/25 PHASE 04 ACT. ACFT STANDS 153 **CLSD**
A2262/26
REF SUP 221/25 PHASE 03 ACT. ACFT STANDS 152 **CLSD**
A2257/26
ACFT STAND 151 **CLSD**
REF SUP 221/25, PHASE 2 ACT
A2254/26
ACFT STAND 150 **CLSD**
REF SUP 221/25, PHASE 01 ACT
E1459/26
DME POS CH111X
-ON R-256 AT FL100 **AVBL** TIL 74NM
-ON R-256 AT FL120 **AVBL** TIL 82.6NM
(EPAMA
E1460/26
DVOR POS 116.400MHZ
-ON R-256 AT FL100 **AVBL** TIL 74NM
-ON R-256 AT FL120 **AVBL** TIL 82.6NM
(EPAMA
A2024/26
REF AIRAC SUP 15/26, PHASE 06 ACT. ACFT STAND 30 **CLSD**
A2031/26
REF AIRAC SUP 180/25, PHASE 1 ACT.
ACFT STANDS 05 **CLSD**
R0488/26
0626-1842
UNMANNED ACFT FLYING WI 540M RADIUS CENTRED ON COORD:
393254N 0023717E
F) SFC G) 00120M AGL

R0519/26
SR-SS
UNMANNED ACFT FLYING WI 90M RADIUS CENTRED ON
COORD 392343N 0024641E
F) GND G) 00120M AGL
R0447/26
UNMANNED ACFT FLYING WI 550M RADIUS CENTRED ON COORD:
393146N 0023355E
F) SFC G) 00120M AGL
R0295/26
SR-SS
UNMANNED ACFT FLYING WI 415M RADIUS CENTRED ON
COORD 393350N 0023710E
F) SFC G) 00120M AGL
R0176/26
SR-SS
UNMANNED ACFT WILL TAKE PLACE WI 520M RADIUS CENTRED ON
COORD 393142N 0023305E
F) SFC G) 00120M AGL

++++++++++++++++++++++ APPROACH PROCEDURES ++++++++++++++++++++++

E2067/26
DME ASSOCIATED WITH **ILS** RWY06L **U/S**. NOT USABLE. FALSE INDICATIONS

==========
DESTINATION ALTERNATE AIRPORT(S)
==========

LEBL/BCN JOSEP TARRADELLAS/EL PRAT

++++++++++++++++++++++++++ AIRPORT ++++++++++++++++++++++++++++

A2876/26
TWY S12 AND PN, AND GATES PN AND MN **CLSD**. REF SUP AIRAC 95/25.
PHASE B.2
A2881/26
REF SUP AIRAC 95/25, PHASE B.2: **TWY S13**, LN, GATES LN, QN LTD TO
ACFT
MAX CODE LETTER E.
A2880/26
APR 26-30 0500-2100, MAY 01-02 0500-2100
REF AIRAC SUP 95/25, PHASE B.2 **TWY T12** AND T13 LTD TO ACFT MAX
LETTER
CODE C. FOR ACFT MAX LETTER CODE E, **AVBL** PPR 10MIN
A2738/26
23 2100-2359, 24 0000-0100 2100-2359, 25-26 0000-0400 2100-2359,
27 0000-0100
TWY T14 AND S13, AND GATES RN AND QN **CLSD**, **AVBL** PPR 10 MIN
A2743/26
23 2100-2359, 24 0000-0100 2100-2359, 25-26 0000-0400 2100-2359,
27 0000-0100
TWY S14 LTD TO MAX ACFT CODE LETTER C,
AVBL PPR 10 MIN, TO MAX ACFT CODE LETTER E
A2744/26
23 2100-2359, 24-26 0000-0400 2100-2359, 27 0000-0400
TWY B8, B9 AND GATE HN **CLSD**, **AVBL** PPR 10 MIN

A1570/26
TRIGGER NOTAM - PERM AIRAC AIP AMDT 03/26 WEF 16-APR-26.
BARCELONA/JOSEP TARRADELLAS BARCELONA EL PRAT AD.-
-LOCAL REGULATIONS: AIRCRAFT DE-ICING.
-UPDATE OF THE PATC CHARTS
R1158/26
0600-2200
UNMANNED AIRCRAFT FLYING WI RADIUS 500M CENTRED ON COORD:
411423N 0014639E
SITGES / BARCELONA
F) SFC G) 00120M AGL
A2184/26
GATE GN **CLSD**

==========
EXTENDED AREA AROUND DEPARTURE
==========

LIRR ROME FIR/UIR

++++++++++++++++++++++++++++ FIR/UIR ++++++++++++++++++++++++++++++

E0969/26
VITERBO CTR.
VFR ROUTE SEGMENT ACQUAPENDENTE (RVN3)-ORVIETO SCALO (RVN2)
SUSPENDED DUE TO INTERFERENCE WITH ALFINA AEROBATIC AREA
REF AIP ENR 6.3-7
E0944/26
MON-FRI 0530-0630 1400-1700
FROSINONE ATZ.
ATS COMMUNICATION FACILITIES 'FROSINONE TWR' NOT PROVIDED.
REF AIP ENR 2.1.3-5
M2273/26
MILANO SCCAM FREQ 121.140MHZ **NOT AVBL** DUE TO TECR REF MILAIP ENR
2.1.1.1-5
E0941/26
MILANO SCCAM (ITALIAN AIR FORCE COORDINATION AND CONTROL SERVICE)
FREQ 121.140MHZ **NOT AVBL** DUE TO TECR
REF AIP ENR 2.1.1.1-3
E0905/26
SUP 14/2026
GROUND BASED WEATHER RADAR OBSERVATION SERVICE-ROMA
EXPIRY DATE IS BROUGHT FORWARD TO 20 APR 2026 HR1000
E0906/26
GROUND BASED WEATHER RADAR OBSERVATION SERVICE IS ON TRIAL BASIS
WEATHER REPORT (TAD, THUNDERSTORM AREA DETECTION) TO BE CONSIDERED
UNRELIABLE.
REF AIP GEN 3.5
E0904/26
ROMA SCCAM (ITALIAN AIR FORCE COORDINATION AND CONTROL SERVICE)
ATS **NOT AVBL** DUE TO TECR WI A LINE JOINING FOLLOWING POINTS:
383000N0131500E-383000N0143000E-363000N0143000E-
363000N0131500E-383000N0131500E
RMK: OPERATIONAL COORDINATION ASSURED
REF AIP ENR 2.1.1.2-4
E0484/26
TRIGGER NOTAM-PERM AIP AIRAC AMDT 4/26 EFFECTIVE DATE 16 APR 2026
UPDATE OF GEN 4.1 SECTION 'AERODROME/HELIPORT CHARGES'
AIRAC IS POSTED AND **AVBL** ON WEBSITE WWW.ENAV.IT

E0490/26
TRIGGER NOTAM-AIRAC SUP S20/26 IN FORCE FM 16 APR TO 28 OCT 2026
REGGIO CALABRIA CTR: LIMITATIONS FOR IFR TRAFFIC
SUP IS POSTED AND **AVBL** ON WEBSITE WWW.ENAV.IT

E0846/26
POSSIBLE UNRELIABILITY OF WI-FI, GLOBAL POSITIONING SYSTEM (GPS)
DATA LINK AND DATA VIDEO DUE TO JAMMING ACTIVITY WI AREA 700M
RADIUS OF 415510N0122904E /ROMA CITY/ ELEV FM GND TO 1500FT AGL
FLW FREQ (MHZ) MAY BE AFFECTED: 433-434.8 / 862-870 / 1210-1265 /
1560-1610 / 2400-2484 / 5150-5875 /

E0793/26
NIL NOTIFICATION.
AIP AMDT PUBLICATION DATE 02 APR 2026: NIL

E0739/26
MON-FRI 0530-0630 1400-1700
FROSINONE CTR.
APCH CTL SER NOT PROVIDED.
REF AIP ENR 2.1.2.14-1

E0738/26
FROSINONE ATZ.
ATS COMMUNICATION FACILITIES 'FROSINONE TWR' NOT PROVIDED.
REF AIP ENR 2.1.3-5

E0668/26
MON-THU 0530-1900, FRI 0530-1800
BRINDISI SCCAM (ITALIAN AIR FORCE COORDINATION AND CONTROL
SERVICE) ATS **NOT AVBL** NORTH OF PARALLEL 404200N DUE TO TECR.
RMK:OPERATIONAL COORDINATION ASSURED.
REF AIP ENR 2.1.1.3-2

E0596/26
SAT-SUN 0530-1700
VITERBO CTR.
APPROACH CONTROL SER NOT PROVIDED
RMK: AIRSPACE CLASSIFICATION 'G'
REF AIP ENR 2.1.2.45-2

E0646/26
MON-THU 0000-0530 2100-2359, FRI 0000-0530 1800-2359, SAT SUN H24,
EXC APR 06
ROMA SCCAM (ITALIAN AIR FORCE COORDINATION AND CONTROL SERVICE)
ATS NOT PROVIDED
RMK:
- DIFFERENT ATS OPENING TIME **AVBL** PN AT LEAST 5 WORKING DAYS TO:
SCCAMCIAMPINO.OPS(A)AERONAUTICA.DIFESA.IT
- SAR, EMERG, SECURITY AIR TRAFFIC AND UNMANNED ACTIVITY NOT
AFFECTED
- OPERATIONAL COORDINATION ASSURED H24
REF AIP ENR 2.1.1.2-4

E0660/26
MON-THU 0000-0530 2100-2359, FRI 0000-0530 1800-2359, SAT SUN H24
EXC APR 06
PADOVA SCCAM (ITALIAN AIR FORCE COOR AND CONTROL SERVICE)
ATS NOT PROVIDED.
RMK:
- DIFFERENT ATS OPENING TIME **AVBL** PN AT LEAST 5 WORKING DAYS TO:
SCCAMCIAMPINO.OPS(AT)AERONAUTICA.DIFESA.IT
- EMERG AND SECURITY AIR TRAFFIC NOT AFFECTED
- OPERATIONAL COORDINATION ASSURED H24
REF AIP ENR 2.1.1.1-19

E0669/26
MON-THU 0000-0530 1900-2359, FRI 0000-0530 1800-2359, SAT SUN H24, EXC APR 06
BRINDISI SCCAM (ITALIAN AIR FORCE COORDINATION AND CONTROL SERVICE) ATS NOT PROVIDED.
RMK: DIFFERENT ATS OPENING TIME **AVBL** PN AT LEAST 5 WORKING DAYS TO: SCCAMCIAMPINO.OPS(AT)AERONAUTICA.DIFESA.IT
- EMERG AND SECURITY AIR TRAFFIC NOT AFFECTED
- OPERATIONAL COORDINATION ASSURED H24
REF AIP ENR 2.1.1.3-2

E0592/26
SAT SUN SR-SS
ULTRALIGHT MACHINE ACTIVITY (ULM) CORRIDOR 'SOVANA' IMPLEMENTED IN CTR GROSSETO ZONE 1 AND 3 WITH FOLLOWING CHARACTERISTICS:
- LATERAL LIMITS: 0.5NM WIDE JOINING POINTS 423301N0111006E - 423924N0113830E
- VERTICAL LIMITS:SFC/500FT AGL
REF AIP ENR 5.5.4

E0574/26
ITALIAN AIR CARRIERS AND CAPTAINS OF AIRCRAFT IN CHARGE OF AIR SERVICES OPERATED BY CARRIERS HOLDING AN OPERATING LICENSE ISSUED BY ITALY, WHETHER THEY ARE CONTRACTUAL CARRIERS AND/OR OPERATING CARRIERS, OR PERFORMING AIR SERVICES THROUGH A WET LEASE OR A CODESHARE AGREEMENT AS WELL AS FOR ANY FLIGHT MADE WITH AN AIRCRAFT REGISTERED IN ITALY WHEN PLANNING FLIGHT OPERATIONS SHALL TAKE INTO SERIOUS CONSIDERATION THE HAZARDOUS SITUATION POSED WITHIN ADDIS ABEBA FIR (HAAA) FROM DEDICATED ANTI AVIATION WEAPONRY IN THEIR RISK ASSESSMENTS AND ROUTING DECISIONS ACCORDING TO EASA SAFETY DIRECTIVES

E0572/26
UKRAINIAN CRISIS
ACCORDING TO EU REGULATION 833/2014, AS AMENDED BY EU REGULATION 2022/334, FOR ANY AIRCRAFT OPERATED BY RUSSIAN AIR CARRIERS, INCLUDING AS A MARKETING CARRIER IN CODE-SHARING OR BLOCKED-SPACE ARRANGEMENTS, OR FOR ANY RUSSIAN REGISTERED AIRCRAFT, OR FOR ANY NON-RUSSIAN-REGISTERED AIRCRAFT WHICH IS OWNED OR CHARTERED, OR OTHERWISE CONTROLLED BY ANY RUSSIAN NATURAL OR LEGAL PERSON, ENTITY OR BODY, IS PROHIBITED TO LAND IN, TAKE OFF FROM OR OVERFLY ITALIAN TERRITORY EXCEPT HUMANITARIAN, SAR AND LEASED AIRCRAFT ONE-WAY RETURN-FLIGHTS WITH THE PERMISSION OF THE APPROPRIATE ITALIAN AUTHORITIES AND IN CASE OF EMERGENCY LANDING OR EMERGENCY OVERFLIGHT.

E0573/26
ENTRY, EXIT AND OVERFLIGHT OF ITALIAN AIRSPACE IS PROHIBITED FOR ALL COMMERCIAL ACFT OPERATORS REGISTERED IN THE REPUBLIC OF BELARUS INCLUDING AS A MARKETING CARRIER IN CODE SHARING OR BLOCKSPACE ARRANGEMENTS, EXC FOR ACFT IN EMERGENCY, SAR AND FLT FOR HUMANITARIAN PURPOSES, ACCORDING TO COUNCIL REGULATION OF EUROPEAN UNION 907/2021 OF 4TH OF JUNE 2021
REF AIP GEN 1.2-1

E0571/26
ITALIAN AIR CARRIERS AND CAPTAINS OF AIRCRAFT IN CHARGE OF AIR SERVICES OPERATED BY CARRIERS HOLDING AN OPERATING LICENSE ISSUED BY ITALY, WHETHER THEY ARE CONTRACTUAL CARRIERS AND/OR OPERATING CARRIERS, OR PERFORMING AIR SERVICES THROUGH A WET LEASE OR A CODESHARE AGREEMENT AS WELL AS FOR ANY FLIGHT MADE WITH AN AIRCRAFT REGISTERED IN ITALY WHEN PLANNING FLIGHT OPERATIONS WITHIN JEDDAH FIR (OEJD) ARE RECOMMENDED TO EXERCISE ENHANCED **CAUTION** AND TO FOLLOW INSTRUCTIONS FROM SAUDI AUTHORITIES PROVIDING AIR TRAFFIC MANAGEMENT PAYING PARTICULAR ATTENTION TO RESTRICTIONS OR INTERDICTIONS PUBLISHED WITH VERY SHORT NOTICE AND TO EASA SAFETY DIRECTIVES.

E0570/26
ITALIAN AIR CARRIERS AND CAPTAINS OF AIRCRAFT IN CHARGE OF AIR SERVICES OPERATED BY CARRIERS HOLDING AN OPERATING LICENSE ISSUED BY ITALY, WHETHER THEY ARE CONTRACTUAL CARRIERS AND/OR OPERATING CARRIERS, OR PERFORMING AIR SERVICES THROUGH A WET LEASE OR A CODESHARE AGREEMENT AS WELL AS FOR ANY FLIGHT MADE WITH AN AIRCRAFT REGISTERED IN ITALY ARE RECOMMENDED TO AVOID KARTHOUM FIR (HSSS) AT ALL ALTITUDES ACCORDING TO EASA SAFETY DIRECTIVES.

E0569/26
ITALIAN AIR CARRIERS AND CAPTAINS OF AIRCRAFT IN CHARGE OF AIR SERVICES OPERATED BY CARRIERS HOLDING AN OPERATING LICENSE ISSUED BY ITALY, WHETHER THEY ARE CONTRACTUAL CARRIERS AND/OR OPERATING CARRIERS, OR PERFORMING AIR SERVICES THROUGH A WET LEASE OR A CODESHARE AGREEMENT AS WELL AS FOR ANY FLIGHT MADE WITH AN AIRCRAFT REGISTERED IN ITALY WHEN PLANNING FLIGHT OPERATIONS ARE RECOMMENDED TO AVOID LAHORE FIR (OPLR) AND KARACHI FIR (OPKR) BELOW HEIGHT 25000FT AGL MONITORING EASA SAFETY DIRECTIVES.

E0568/26
ITALIAN AIR CARRIERS AND CAPTAINS OF AIRCRAFT IN CHARGE OF AIR SERVICES OPERATED BY CARRIERS HOLDING AN OPERATING LICENSE ISSUED BY ITALY, WHETHER THEY ARE CONTRACTUAL CARRIERS AND/OR OPERATING CARRIERS, OR PERFORMING AIR SERVICES THROUGH A WET LEASE OR A CODESHARE AGREEMENT AS WELL AS FOR ANY FLIGHT MADE WITH AN AIRCRAFT REGISTERED IN ITALY ARE RECOMMENDED TO AVOID HEIGHT BELOW 25000FT AGL IN MOGADISHU FIR (HCSM) ACCORDING TO EASA SAFETY DIRECTIVES.

E0566/26
ITALIAN AIR CARRIERS AND CAPTAINS OF AIRCRAFT IN CHARGE OF AIR SERVICES OPERATED BY CARRIERS HOLDING AN OPERATING LICENSE ISSUED BY ITALY, WHETHER THEY ARE CONTRACTUAL CARRIERS AND/OR OPERATING CARRIERS, OR PERFORMING AIR SERVICES THROUGH A WET LEASE OR A CODESHARE AGREEMENT AS WELL AS FOR ANY FLIGHT MADE WITH AN AIRCRAFT REGISTERED IN ITALY ARE RECOMMENDED TO AVOID HEIGHT BELOW 15000FT ABOVE GROUND LEVEL IN YANGON FIR (VYYF) ENSURING ROBUST RISK ASSESSMENT ACCORDING TO EASA SAFETY DIRECTIVES.

E0567/26
ITALIAN AIR CARRIERS AND CAPTAINS OF AIRCRAFT IN CHARGE OF AIR SERVICES OPERATED BY CARRIERS HOLDING AN OPERATING LICENSE ISSUED BY ITALY, WHETHER THEY ARE CONTRACTUAL CARRIERS AND/OR OPERATING CARRIERS, OR PERFORMING AIR SERVICES THROUGH A WET LEASE OR A CODESHARE AGREEMENT AS WELL AS FOR ANY FLIGHT MADE WITH AN AIRCRAFT REGISTERED IN ITALY ARE RECOMMENDED TO EXERCISE ENHANCED **CAUTION** WHEN OVERFLYING OR OPERATING FLIGHTS TO TEL AVIV FIR (LLLL) IN PARTICULAR TO FOLLOW INSTRUCTIONS FROM ISRAELI AUTHORITIES AND TO PAY PARTICULAR ATTENTION TO RESTRICTIONS OR INTERDICTIONS PUBLISHED BY NOTAM WITH VERY SHORT NOTICE DUE TO POTENTIALLY FAST EVOLVING SITUATION AND EASA SAFETY DIRECTIVES.

E0565/26
ITALIAN AIR CARRIERS AND CAPTAINS OF AIRCRAFT IN CHARGE OF AIR SERVICES OPERATED BY CARRIERS HOLDING AN OPERATING LICENSE ISSUED BY ITALY, WHETHER THEY ARE CONTRACTUAL CARRIERS AND/OR OPERATING CARRIERS, OR PERFORMING AIR SERVICES THROUGH A WET LEASE OR A CODESHARE AGREEMENT AS WELL AS FOR ANY FLIGHT MADE WITH AN AIRCRAFT REGISTERED IN ITALY ARE RECOMMENDED TO AVOID PLANNING FLIGHT OPERATIONS IN SANAA FIR (OYSC) AND SOUTHERN RED SEA AT ALL ALTITUDES ENSURING ROBUST RISK ASSESSMENT ACCORDING TO EASA SAFETY DIRECTIVES.

E0564/26
ITALIAN AIR CARRIERS AND CAPTAINS OF AIRCRAFT IN CHARGE OF AIR SERVICES OPERATED BY CARRIERS HOLDING AN OPERATING LICENSE ISSUED BY ITALY, WHETHER THEY ARE CONTRACTUAL CARRIERS AND/OR OPERATING CARRIERS, OR PERFORMING AIR SERVICES THROUGH A WET LEASE OR A CODESHARE AGREEMENT AS WELL AS FOR ANY FLIGHT MADE WITH AN AIRCRAFT REGISTERED IN ITALY ARE RECOMMENDED TO AVOID BAGHDAD FIR (ORBB) ACCORDING TO EASA SAFETY DIRECTIVES.

E0563/26
ITALIAN AIR CARRIERS AND CAPTAINS OF AIRCRAFT IN CHARGE OF AIR SERVICES OPERATED BY CARRIERS HOLDING AN OPERATING LICENSE ISSUED BY ITALY, WHETHER THEY ARE CONTRACTUAL CARRIERS AND/OR OPERATING CARRIERS, OR PERFORMING AIR SERVICES THROUGH A WET LEASE OR A CODESHARE AGREEMENT AS WELL AS FOR ANY FLIGHT MADE WITH AN AIRCRAFT REGISTERED IN ITALY ARE RECOMMENDED TO OPERATE WITHIN AIRSPACE OF LEBANON FIR BEIRUT (OLBB) ACCORDING TO EASA SAFETY DIRECTIVES ENSURING A ROBUST RISK ASSESSMENT.

E0562/26
ITALIAN AIR CARRIERS AND CAPTAINS OF AIRCRAFT IN CHARGE OF AIR SERVICES OPERATED BY CARRIERS HOLDING AN OPERATING LICENSE ISSUED BY ITALY, WHETHER THEY ARE CONTRACTUAL CARRIERS AND/OR OPERATING CARRIERS, OR PERFORMING AIR SERVICES THROUGH A WET LEASE OR A CODESHARE AGREEMENT AS WELL AS FOR ANY FLIGHT MADE WITH AN AIRCRAFT REGISTERED IN ITALY ARE RECOMMENDED TO AVOID AIRSPACE NORTH KOREA (FIR PYONGYANG ZKKP) DUE TO POTENTIAL RISK FROM BALLISTIC MISSILES

E0561/26
ITALIAN AIR CARRIERS AND CAPTAINS OF AIRCRAFT IN CHARGE OF AIR SERVICES OPERATED BY CARRIERS HOLDING AN OPERATING LICENSE ISSUED BY ITALY, WHETHER THEY ARE CONTRACTUAL CARRIERS AND/OR OPERATING CARRIERS, OR PERFORMING AIR SERVICES THROUGH A WET LEASE OR A CODESHARE AGREEMENT AS WELL AS FOR ANY FLIGHT MADE WITH AN AIRCRAFT REGISTERED IN ITALY WHEN PLANNING FLIGHT OPERATIONS SHALL AVOID OPERATIONS IN AFGHANISTAN FIR (OAKX) BELOW HEIGHT 25000 FEET AGL AND ACCORDING TO EASA SAFETY DIRECTIVES. RMK: AIRWAY P500 G500 NOT AFFECTED.

E0560/26
ITALIAN AIR CARRIERS AND CAPTAINS OF AIRCRAFT IN CHARGE OF AIR SERVICES OPERATED BY CARRIERS HOLDING AN OPERATING LICENSE ISSUED BY ITALY, WHETHER THEY ARE CONTRACTUAL CARRIERS AND/OR OPERATING CARRIERS, OR PERFORMING AIR SERVICES THROUGH A WET LEASE OR A CODESHARE AGREEMENT AS WELL AS FOR ANY FLIGHT MADE WITH AN AIRCRAFT REGISTERED IN ITALY ARE REQUESTED TO AVOID MINSK FIR UMMV. FOREIGN AIR CARRIERS INBOUND EU ARE RECOMMENDED TO AVOID MINSK FIR (UMMV) ACCORDING TO EASA SAFETY DIRECTIVES

E0559/26
ITALIAN AIR CARRIERS AND CAPTAINS OF AIRCRAFT IN CHARGE OF AIR SERVICES OPERATED BY CARRIERS HOLDING AN OPERATING LICENSE ISSUED BY ITALY, WHETHER THEY ARE CONTRACTUAL CARRIERS AND/OR OPERATING CARRIERS, OR PERFORMING AIR SERVICES THROUGH A WET LEASE OR A CODESHARE AGREEMENT AS WELL AS FOR ANY FLIGHT MADE WITH AN AIRCRAFT REGISTERED IN ITALY ARE RECOMMENDED TO AVOID OIIX FIR AND ENSURE THAT A ROBUST RISK ASSESSMENT IS IN PLACE TOGETHER WITH A HIGH LEVEL OF CONTINGENCY PLANNING IN WHOLE MIDDLE EAST ACCORDING TO
EASA SAFETY DIRECTIVES.

E0557/26
ITALIAN AIR CARRIERS AND CAPTAINS OF AIRCRAFT IN CHARGE OF AIR SERVICES OPERATED BY CARRIERS HOLDING AN OPERATING LICENSE ISSUED BY ITALY, WHETHER THEY ARE CONTRACTUAL CARRIERS AND/OR OPERATING CARRIERS, OR PERFORMING AIR SERVICES THROUGH A WET LEASE OR A CODESHARE AGREEMENT AS WELL AS FOR ANY FLIGHT MADE WITH AN AIRCRAFT REGISTERED IN ITALY ARE RECOMMENDED TO AVOID PORTIONS OF DAKAR FIR (GOOO) AND NIAMEY FIR (DRRR) WITHIN TERRITORY AND AIRSPACE OF MALI BELOW HEIGHT 25000FT AGL AND ACCORDING TO EASA SAFETY DIRECTIVES.

E0558/26
ITALIAN AIR CARRIERS AND CAPTAINS OF AIRCRAFT IN CHARGE OF AIR SERVICES OPERATED BY CARRIERS HOLDING AN OPERATING LICENSE ISSUED BY ITALY, WHETHER THEY ARE CONTRACTUAL CARRIERS AND/OR OPERATING CARRIERS, OR PERFORMING AIR SERVICES THROUGH A WET LEASE OR A CODESHARE AGREEMENT AS WELL AS FOR ANY FLIGHT MADE WITH AN AIRCRAFT REGISTERED IN ITALY SHALL NOT ENTER UIR KYIV UKBU, FIR LVIV UKLV, FIR KYIV UKBV, FIR DNIPROPETROVSK UKDV, FIR SIMFEROPOL UKFV, FIR ODESA UKOV, FIR ROSTOV NA DONU URRV. SAID OPERATORS AND AIRCRAFT OWNERS SHALL ALSO AVOID FLIGHT OPS WITHIN BUFFER ZONE EXTENDED OUT 200NM ALONG UKRAINE RUSSIA BORDER. FLIGHT OPS WITHIN CHISHINAU FIR LUUU SHALL ONLY BE UNDERTAKEN IN COMPLIANCE WITH AERONAUTICAL PUBLICATIONS ISSUED BY REPUBLIC OF MOLDOVA. OPERATORS ARE ALSO REMINDED THAT FLIGHT OPS WITHIN MINSK FIR UMMV ARE PROHIBITED AND THAT ADDITIONAL RISK ASSESSMENT AND FLIGHT PLANNING DECISIONS SHALL BE TAKEN BEFORE OPERATING IN FIR UUWV, FIR ULLL, FIR USSV, FIR UWWW IN ACCORDANCE WITH EASA SAFETY DIRECTIVES

E0556/26
ITALIAN AIR CARRIERS AND CAPTAINS OF AIRCRAFT IN CHARGE OF AIR SERVICES OPERATED BY CARRIERS HOLDING AN OPERATING LICENSE ISSUED BY ITALY, WHETHER THEY ARE CONTRACTUAL CARRIERS AND/OR OPERATING CARRIERS, OR PERFORMING AIR SERVICES THROUGH A WET LEASE OR A CODESHARE AGREEMENT AS WELL AS FOR ANY FLIGHT MADE WITH AN AIRCRAFT REGISTERED IN ITALY WHEN PLANNING FLIGHT OPERATIONS ARE RECOMMENDED TO AVOID DAMASCUS FIR (OSTT) AT ALL ALTITUDES ACCORDING TO EASA SAFETY DIRECTIVES

E0526/26
AMENDOLA CTR.
APCH CONTROL SER CALL SIGN 'AMENDOLA RADAR' MODIFY HR IN RMK 3
TUE-FRI 0700-1000 (0600-0900)
REF AIP ENR 2.1.2.2-3

E0497/26
CAGLIARI CTR.
RADAR SYSTEM TECHNICAL CHARACTERISTICS CHG TO READ:
1.RADAR SYSTEM CONSIST OF:
A.PRIMARY RADAR:
IN S BAND (WAVE LENGTH ABOUT 10 CM) ASR (APPROACH SURVEILLANCE RADAR) CATEGORY, ATCR 33S NG
B.SECONDARY SURVEILLANCE RADAR (SSR):
ASSOCIATED WITH THE PRIMARY RADAR, SIR S S/I
2.PSR/SSR MAINTENANCE:
MONTHLY EVERY FIRST TUE 0700-0900 (0600-0800)
REF AIP ENR 2.1.2.9-4 PARA 2.1.2.9.6.2

E0519/26
CAGLIARI CTR.
'RADAR SERVICE OPERATIONAL CHARACTERISTICS'
2. 'OPERATIVE SETTING'
A. PRIMARY RADAR:
-60NM FROM DECIMOMANNU AERODROME, FL300
B. SECONDARY SURVEILLANCE RADAR (SSR):
-150NM FROM DECIMOMANNU AERODROME, FL300
3. 'PRIMARY AND SECONDARY RADAR LIMITATIONS':
A. PRIMARY RADAR (PSR):
COVERAGE NOT ASSURED AS FOLLOW:
- SECTOR 010DEG/115DEG BETWEEN 20NM AND NOMINAL RANGE, BELOW 5000FT - SECTOR 170DEG/190DEG BETWEEN 15NM AND NOMINAL RANGE, BELOW 1000FT - SECTOR 190DEG/250DEG BETWEEN 20NM AND NOMINAL RANGE, BELOW 5000FT - SECTOR 250DEG/270DEG BETWEEN 20NM AND NOMINAL RANGE, BELOW 3000FT - SECTOR 270DEG/010DEG BETWEEN 20NM AND NOMINAL RANGE, BELOW 4000FT - PORTION OF AIRSPACE CONTAINED WITHIN A CONE CENTERED ON THE POINT 392112.24N 0085754.36E HAVING 0.7NM RADIUS AT 1000FT AND 10NM RADIUS AT FL300, DUE TO RADAR ANTENNA CONE OF SILENCE.
B. SECONDARY SURVEILLANCE RADAR (SSR):
COVERAGE NOT ASSURED AS FOLLOW:
- SECTOR 040DEG/115DEG BETWEEN 20NM AND NOMINAL RANGE, BELOW 5000FT - SECTOR 190DEG/250DEG BETWEEN 20NM AND NOMINAL RANGE, BELOW 5000FT - SECTOR 250DEG/270DEG BETWEEN 20NM AND NOMINAL RANGE, BELOW 2000FT - SECTOR 270DEG/040DEG BETWEEN 30NM AND NOMINAL RANGE, BELOW 4000FT - PORTION OF AIRSPACE CONTAINED WITHIN A CONE CENTERED ON THE POINT 392112.24N 0085754.36E HAVING 0.3NM RADIUS AT 1000 FT AND 3NM RADIUS AT FL300, DUE TO RADAR ANTENNA CONE OF SILENCE.
REF AIP ENR 2.1.2.9-3 POINT 2.1.2.9.6 'USE OF RADAR IN APPROACH CONTROL SERVICE' PARAGRAPH 2.1.2.9.6.1

E0524/26
TRAPANI CTR.
- PRIMARY RADAR **NOT AVBL** DUE TO LACK COVERAGE AS FLW:
1. ON 'TRP' **VORTAC** ALL ALTITUDE
2. WITHIN 4NM RADIUS FROM GND TO 5000FT, WITHIN 5NM RADIUS FROM 5000FT TO FL120, WITHIN 6NM RADIUS FROM FL120 TO FL160 DUE TO SILENT CONE.
3. ALL SECTORS FROM FL200 TO UNL.
4. SECTOR SOUTH-EAST 140DEG BEYOND 25NM BELOW 6000FT.
- SECONDARY RADAR **NOT AVBL** DUE TO LACK COVERAGE AS FLW:
1. ON 'TRP' **VORTAC** ALL ALTITUDE
2. WITHIN 2NM RADIUS FROM GND TO FL120, WITHIN 4NM RADIUS FROM FL120 TO FL270 DUE TO SILENT CONE.
3. TRAFFIC DEPARTURE FM TRAPANI **AD** RWY31L AND RWY13R TILL 2NM.
4. SECTOR SOUTH-EAST 140DEG BEYOND 25NM BELOW 6000FT.
REF AIP ENR 2.1.2.41-1

E0284/26
PADOVA SCCAM (ITALIAN AIR FORCE COOR AND CTL SERVICE)
FREQ 123.175MHZ **NOT AVBL** DUE TO TECR
REF AIP ENR 2.1.1.1-19

E0133/26
ADDRESSING OF FLIGHT PLAN MESSAGES:
-FPL AND ASSOCIATED MSG FOR GENERAL AIR TFC DEP FM AN AERODROME UNDER ENAV S.P.A. (ITALIAN AGENCY FOR AIR NAVIGATION SERVICES) JURISDICTION IN VFR OR MIXED FLIGHT RULES (Z), SHALL BE ADDRESSED ONLY TO ARO-CBO ITALY (ATS REPORTING OFFICE WITH CENTRAL BRIEFING CAPABILITIES) - LIRFZPZX, WHICH WILL BE RESPONSIBLE FOR THEIR VALIDATION AND DISTRIBUTION TO APPROPRIATE ATS UNIT.
-AFTN ADDRESS LIIRZEZX SHALL BE ADDED TO THE LIST OF RECIPIENTS OF FPL AND ASSOCIATED MSG FOR VFR OR MIXED FLIGHT RULES (Y OR Z) TFC PLANNING TO FLY ONLY IN VFR WI ITALIAN FIR.
REMARK:
FPL RELATED TO EACH VFR AND/OR MIXED FLIGHT RULES (Z) STAGE OF A FLIGHT THROUGH INTERMEDIATE STOPS SHALL BE ADDRESSED SOLELY TO THE ARO ASSOCIATED TO THE DEPARTURE AERODROME OF THAT STAGE.
REF AIP ENR 1.11-1

E0187/26
THE EQUIPMENT REQUIRED TO OVERFLY THE ITALIAN TERRITORY IN NIGHT VFR SHALL INCLUDE AT LEAST:
- SSR TRANSPONDER MODE A AND C
- ONE RADIO EQUIPMENT TO MAINTAIN TWO-WAY COMMUNICATION WITH ATS UNITS
- ELT(S) OR ELT(A) EQUIPMENT
REF AIP ENR 1.2-5 (PARAGRAPH ENR 1.2.1.6 'NIGHT VFR' POINT G

E0161/26
HLLB/BENGASI **AD**
SHALL BE ADDED TO THE LIST OF **AD** FOR WHICH
SPECIFIC PROVISIONS REGARDING TFC TO/FM LIBYA ARE NOT TO BE APPLIED.
REF AIP GEN 1.2-7 ITEM 1.2.3 'REGULATION ON NON-SCHEDULED AIR SERVICES BETWEEN EU AND THIRD COUNTRIES'
ITEM 1.2.3.1 'SPECIFIC PROVISIONS REGARDING TFC TO/FM LIBYA'

E0088/26
PISA CTR.
PSR/SSR MAINTENANCE CHG:
EVERY MON 0800-1000 (0700-0900), IF VMC ONLY.
REF AIP ENR 2.1.2.35-3

E1929/25
TRAFFIC INFORMATION BROADCAST BY AIRCRAFT (TIBA) PROCEDURE IN FORCE H24 WI AREA 2NM RADIUS CENTRED ON 405443N0125727E (PONZA **VORTAC** 'PNZ') FROM GND UP TO 1500FT AMSL.
TIBA PROCEDURE APPLY TO:
- HEMS (HEL EMERG MEDICAL SER) OPS INVOLVING PONZA ISLAND
- CIVIL HEL FLT TO/FROM HELISURFACES ON PONZA ISLAND
- ALL OTHER TRAFFIC CROSSING OR OPERATING WITHIN THE AREA AFFECTED
PILOTS SHALL:
- BROADCAST POSITION, ALTITUDE, AND INTENTIONS ON FREQ 130.00MHZ - MONITOR THE SAME FREQ WHILE OPERATING WITHIN THE AREA.
REF AIP ENR 2.2 'OTHER REGULATED AIRSPACE' POINT 2.2.3 'TIBA ZONE' AND AIP ENR 2.1.1.2.4.3 'RULES FOR VFR TRAFFIC'
F) GND G) 1500FT AMSL

E1428/25

FIREFIGHTING ACTIVITY IS REGULATED AS FLW:
-AIRCRAFT NOT INVOLVED IN FIREFIGHTING OPERATIONS MUST NOT FLY OVER THE FIRE AREA AND MUST EXERCISE EXTREME **CAUTION** WHEN FLYING NEAR IT, CONSIDERING THE POSSIBLE INTERVENTION OF FIREFIGHTING ACFT.
THEREFORE, WHEN AN AERIAL FIREFIGHTING OPERATION IS ANNOUNCED/ACTIVE, IT IS PROHIBITED TO FLY IN THE ZONES IDENTIFIED BY THE FIRE-FIGHTING AUTHORITIES AND NOTIFIED BY THE COMPETENT AUTHORITY OR, IN THE ABSENCE OF SPECIFIC PROVISIONS:
I. WITHIN CONTROLLED AIRSPACE, IN THE ABSENCE OF SPECIFIC COMMUNICATIONS ABOUT THE AREA AFFECTED BY THE FIREFIGHTING OPERATIONS FROM THE ENGAGED ACFT, BELOW 760M (2500FT) AGL WITHIN AN AREA EXTENDING UP TO A HORIZONTAL DISTANCE OF 4KM (2 NM) FROM THE FIRE
II. OUTSIDE CONTROLLED AIRSPACE, BELOW 900M (3000FT) AGL, WITHIN AN AREA EXTENDING UP TO A HORIZONTAL DISTANCE OF 9KM (5NM) FROM THE FIRE.
-TIMELY UPDATES REGARDING THE ZONES AND AREAS AFFECTED CAN BE BROADCAST ON GROUND/AIR/GROUND FREQUENCIES.
PART 1 OF 2

-THE ENGAGED FIREFIGHTING AIRCRAFT KEEP THE ATS UNIT RESPONSIBLE FOR THE AFFECTED AREA INFORMED ABOUT THE FIREFIGHTING OPERATIONS AND THEIR CONCLUSION.
-THE ATS UNIT RESPONSIBLE FOR THE AREA AFFECTED BY THE FIREFIGHTING OPERATIONS PROVIDES AIR TRAFFIC SERVICES, AS FAR AS POSSIBLE:
1.TO THE AIRCRAFT ENGAGED IN FIREFIGHTING OPERATIONS, EXCEPT IN THE FIREFIGHTING AREA WHERE IT PROVIDES ONLY FLIGHT INFORMATION AND ALERT SERVICES.
RMK: IF A CTR IS AFFECTED BY THE FIRE, SID/STAR/INSTR APCH PROC COULD BE TEMPORARILY **SUSPENDED** OR MODIFIED
2.TO OTHER GAT FLIGHTS, BASED ON THE INFORMATION **AVAILABLE** REGARDING THE FIREFIGHTING ACTIVITY, WHICH MAY STILL BE INCOMPLETE.
REF AIP ENR 1.1.1.4 'POLICE, CUSTOMS AND PATROL FLIGHTS ENGAGED IN URGENCY MISSIONS', PARAGRAPH C 'FIREFIGHTING'
PART 2 OF 2

++++++++++++++++++++++++++++ WAYPOINT ++++++++++++++++++++++++++++

E0977/26
LATINA **VOR/DME** 'LAT' FREQ 111.20 MHZ CH 49X:
- **VOR**
LIMITATIONS BEYOND 15 NM RDL 018 NU
LIMITATIONS BEYOND 29 NM WITHIN 35 NM RDL 024 MRA 14000 FT
LIMITATIONS AT 25 NM
005DEG/110DEG NU
110DEG/130DEG MRA 5000 FT
130DEG/290DEG MRA 2500 FT
290DEG/330DEG MRA 5000 FT
330DEG/005DEG MRA 10000FT
- **DME**
LIMITATIONS BEYOND 15 NM RDL 018 NU
LIMITAZIONI OLTRE/LIMITATIONS BEYOND 17 NM RDL 024 NU
LIMITATIONS AT 25 NM
-005DEG/110DEG NU
-110DEG/130DEG MRA 5000 FT
-130DEG/290DEG MRA 2500 FT
-290DEG/330DEG MRA 5000 FT
-330DEG/005DEG MRA 10000FT
REF AIP ENR 4.1.1-5 'RADIO NAVIGATION AIDS - ENROUTE',
COLUMN 7 'DESIGNATED OPERATIONAL COVERAGE LIMITATIONS'

E0974/26
LATINA **VOR/DME** 'LAT' 111.20MHZ CH 49X
REMOTE STATUS INDICATOR **NOT AVAILABLE**.
REF AIP ENR 4.1.1-5

E0937/26
PONZA **VORTAC** 'PNZ' FREQ 114.60MHZ CH 93X UNSERVICEABLE
REF AIP ENR 4.1.1-8

E0869/26
GRAZZANISE **TACAN** 'GRA' CH 122X UNSERVICEABLE DUE TO MAINT
REF AIP ENR 4.1.2-3

E0477/26
ELBA **VORTAC** 'ELB' FREQ 114.70MHZ CH 94X UNSERVICEABLE.
REF AIP ENR 3.4.2-5 AND 4.1.1-4

E0472/26
LATINA **VOR/DME** 'LAT' FREQ 111.20 MHZ CH 49X:
- **VOR**
LIMITATIONS BEYOND 15 NM RDL 018 NU
LIMITATIONS BEYOND 29 NM WITHIN 35 NM RDL 024 MRA 14000 FT
LIMITATIONS AT 25 NM
005DEG/110DEG NU
110DEG/130DEG MRA 5000 FT
130DEG/290DEG MRA 2500 FT
290DEG/330DEG MRA 5000 FT
330DEG/005DEG MRA 10000FT
- **DME**
LIMITATIONS BEYOND 15 NM RDL 018 NU
LIMITAZIONI OLTRE/LIMITATIONS BEYOND 17 NM RDL 024 NU
LIMITATIONS AT 25 NM
-005DEG/110DEG NU
-110DEG/130DEG MRA 5000 FT
-130DEG/290DEG MRA 2500 FT
-290DEG/330DEG MRA 5000 FT
-330DEG/005DEG MRA 10000FT
REF AIP ENR 4.1.1-5 'RADIO NAVIGATION AIDS - ENROUTE',
COLUMN 7 'DESIGNATED OPERATIONAL COVERAGE LIMITATIONS'

E0320/26
SIGONELLA **NDB** 'SIG' FREQ 412.00KHZ UNSERVICEABLE
REF AIP ENR 4.1.2-5

++++++++++++++++++++++ RESTRICTED AIRSPACE ++++++++++++++++++++++

W1025/26 VALID: 26-APR-26 1500 - 03-MAY-26 2359
DAILY 1500-2359
TEMPORARY RESTRICTED AREA IMPLEMENTED WI 200M RADIUS OF
380505N0131723E / MONREALE-SW PALERMO / ELEV 120M AGL
DUE TO MASS MOVEMENT OF CIV UNMANNED ACFT
F) GND G) 120M AGL
W1186/26 VALID: 26-APR-26 1200 - 26-APR-26 1530
TEMPORARY RESTRICTED AREA IMPLEMENTED WI 1.5NM RADIUS OF
425722N0124212E /FOLIGNO-SE PERUGIA/ ELEV FL090
DUE TO CIV PJE ACTIVITY
RMK: ACT SUBJ PRIOR COOR WITH ROMA ACC
F) GND G) FL090
W0643/26
FIREWORKS DISPLAY WILL TAKE PLACE WI AREA 30M RADIUS OF
371350N0151301E /AUGUSTA-N SIRACUSA/ ELEV 80M AGL
F) GND G) 80M AGL
W1206/26
DAILY SS PLUS30-2000
RESTRICTED AREA LI R41 /MONTE ROMANO/ OPR HR EXTD
REF AIP ENR 5.1.2-7
F) SFC G) 6000FT AMSL
W1203/26
DAILY 0700-2000
MIL UNMANNED ACFT ACT WILL TAKE PLACE WI FLW AREA:
422300N0114938E-422300N0115708E-421700N0115708E-
421700N0115038E-421840N0114938E-422300N0114938E
/MONTE ROMANO- SW VITERBO/
F) GND G) 3000FT AMSL
W1157/26
DAILY SR-SS
AIR DISPLAY WILL TAKE PLACE WI 3NM RADIUS OF
430759N0120215E/CASTIGLIONE DEL LAGO-W PERUGIA/ELEV 3000FT AGL
F) GND G) 3000FT AGL
W1127/26
SR-SS
MIL UNMANNED ACT WILL TAKE PLACE WI FLW AREA:
413833N0131803E-413830N0131756E-413830N0131736E-
413835N0131724E-413841N0131718E-413846N0131715E-
413851N0131714E-413855N0131714E-413859N0131716E-
413903N0131719E-413907N0131727E-413908N0131736E-
413903N0131748E-413901N0131752E-413835N0131803E-
413833N0131803E /LIRH - FROSINONE AD/
RMK: ACT SUBJ PRIOR COOR WITH FROSINONE TWR
F) GND G) 2000FT AMSL
W0943/26
MON-FRI 0600-2100
MIL UNMANNED ACT WILL TAKE PLACE WI FLW AREA:
414115N0133929E-414209N0134620E-413921N0134827E-
413819N0134003E-414115N0133929E / ALVITO - E FROSINONE /
F) GND G) 6000FT AMSL

W0640/26
DAILY SR-SS
PARASAILING ACTIVITY WILL TAKE PLACE WI FOLLOWING AREA :
380934N0132248E-381100N0132230E-381215N0132052E-
381218N0132016E-381226N0132036E-381221N0132109E-
381105N0132241E-380935N0132258E-380934N0132248E
/PALERMO COAST LINE/ ELEV 45M AGL
F) GND G) 45M AGL

W1047/26
MON-FRI 0500-2200 EXC MAY 01 JUN 02
MIL UNMANNED ACT WILL TAKE PLACE WI 5KM RADIUS OF
412931N0134310E / LIAQ - AQUINO **AD** /
F) GND G) 1600FT AMSL

W1166/26
VOLCANO STROMBOLI ID 211040,
PSN COORDINATES 384728N0151246E, ELEV 3031FT/924M.
LAVA OVERFLOW IS OBSERVED ON SCIARIA DEL FUOCO.
STROMBOLIAN ACTIVITY IS OBSERVED AT THE SUMMIT CRATERS.
NO ASH CLOUD IS PRODUCED.
ICAO LEVEL OF ALERT COLOUR: ORANGE
RMK: PILOTS SHALL WATCH OUT FOR RELEVANT SIGMET AND VOLCANIC
ADVISORY PRODUCTS PROVIDED BY TOULOUSE VOLCANIC ASH ADVISOR CENTER
(VAAC) IF **AVBL** THROUGH WEB SITE
HTTP://VAAC.METEO.FR/VOLCANOES/STROMBOLI/ (LOWER CASE)
REF AIP ENR 5.3.3-1
F) GND G) UNL

W1113/26
DAILY SR-SS
TEMPORARY RESTRICTED AREA IMPLEMENTED AS FLW:
433627N0105714E-434132N0105237E-434221N0105455E-
433748N0105928E-433702N0105936E-433614N0105959E-
433502N0110204E-433350N0110137E-433327N0110032E-
433508N0105703E-433627N0105714E /CASTELFIORENTINO - SW FIRENZE/
ELEV 525FT AMSL DUE TO CIV UNMANNED ACFT ACTIVITY
F) GND G) 525FT AMSL

W1110/26
OVERFLYING FORBIDDEN TO ALL UNMANNED ACFT UNDER
PROVISION OF ARTICLE 793 AIR NAVIGATION ACT WI FLW AREA:
382450N0155231E-382449N0155231E-382448N0155230E-382451N0155224E-
382501N0155233E-382501N0155234E-382458N0155234E-382456N0155235E-
382451N0155232E-382450N0155231E
/ PALMI - NNE REGGIO CALABRIA / ELEV 120M AGL
F) GND G) 120M AGL

W1107/26
OVERFLYING FORBIDDEN TO ALL UNMANNED ACFT UNDER
PROVISION OF ARTICLE 793 AIR NAVIGATION ACT WI FLW AREA:
381526N0154504E-381526N0154503E-381530N0154511E-
381528N0154512E-381527N0154512E-381525N0154504E-
381526N0154504E (FAVAZZINA-NNE REGGIO CALABRIA)
ELEV 120M AGL
F) GND G) 120M AGL

W0786/26
CIV UNMANNED ACFT ACT WILL TAKE PLACE WI FLW AREA:
382556N0145757E-382237N0150100E-382125N0145909E-382429N0145454E-
382556N0145757E /VULCANO ISLAND-NW MESSINA/ ELEV 394FT AGL
F) GND G) 394FT AGL

W0787/26
CIV UNMANNED ACFT ACT WILL TAKE PLACE WI FLW AREA:
382827N0145608E-382738N0145609E-382738N0145644E-
382828N0145645E-382827N0145608E /LIPARI-NW MESSINA/
ELEV 394FT AGL
F) GND G) 394FT AGL

W0788/26
CIV UNMANNED ACFT ACTIVITY WILL TAKE PLACE WI FOLLOWING AREA:
384859N0151248E-384822N0151438E-384805N0151432E-
384808N0151419E-384755N0151413E-384750N0151424E-
384601N0151319E-384654N0151126E-384707N0151142E-
384717N0151135E-384712N0151111E-384755N0151112E-
384859N0151248E / STROMBOLI ISLAND -NNW MESSINA / ELEV 394FT AGL
F) GND G) 394FT AGL

W0789/26
CIV UNMANNED ACFT ACTIVITY WILL TAKE PLACE WI FOLLOWING AREA:
383514N0145029E-383448N0145029E-383456N0144951E-383517N0144949E-
383514N0145029E (SALINA-NW MESSINA) ELEV 394FT AGL
F) GND G) 394FT AGL

W1051/26
DAILY SR-SS
CIV UNMANNED ACFT ACTIVITY WILL TAKE PLACE WI FLW AREAS
/SW SIRACUSA/:
AREA 1 : 100M RADIUS OF 365737N0151209E/ ELEV 100M AGL
AREA 2: 365945N0151016E-365931N0151456E-365926N0151456E-
365858N0151157E-365931N0151016E-365945N0151016E / ELEV 190M AGL
AREA 3: 370142N0150307E-370143N0150351E-370130N0150420E-
370142N0150307E / ELEV 75M AGL
AREA 4: 365634N0151031E-365628N0151056E-365622N0151053E-
365632N0151029E-365634N0151031E / ELEV 115M AGL
AREA 4BIS: 365403N0150743E-365345N0150840E-365311N0150823E-
365314N0150813E-365340N0150825E-365358N0150739E-
365403N0150743E / ELEV 115M AGL
AREA 5: 365007N0145456E-365000N0145506E-364938N0145439E-
364944N0145427E-365007N0145456E / ELEV 115M AGL
RMK: ACT SUBJ PRIOR COOR WITH SIGONELLA TWR
F) GND G) 190M AGL

W0965/26
MIL UNMANNED ACFT ACTIVITY WILL TAKE PLACE WI FLW AREAS:
- AREA 1: 410332N0135916E-410710N0140758E-410514N0140922E-
410339N0141030E-410001N0140149E-410332N0135916E
- AREA 2: 410736N0135151E-410806N0135410E-410836N0135536E-
410332N0135916E-410119N0135511E-410436N0135422E-410736N0135151E
- AREA 3: 410836N0135536E-411102N0140303E-411135N0140445E-
410710N0140758E-410332N0135916E-410836N0135536E
- AREA 4: 411135N0140445E-411313N0140947E-410953N0141428E-
410851N0141201E-410710N0140758E-411135N0140445E
- AREA 5A: 410710N0140758E-410851N0141201E-410656N0141325E-
410514N0140922E-410710N0140758E
- AREA 5B: 410514N0140922E-410656N0141325E-410851N0141201E-
410953N0141428E-410728N0141750E-410629N0141949E-410228N0141122E-
410339N0141030E-410514N0140922E
- AREA 6: 410001N0140149E-410339N0141030E-410228N0141122E-
405824N0140259E-410001N0140149E
- AREA 7: 410117N0135507E-410332N0135916E-410000N0140152E-
405823N0140305E-405711N0140004E-405947N0135723E-410117N0135507E
RMK: REAL ACTIVATION OF ABOVE MENTIONED AREAS WILL TAKE PLACE ON
TACTICAL BASIS BY GRAZZANISE APP IN COOR WITH ROMA ACC
F) GND G) 500FT AGL

W0966/26
MIL UNMANNED ACFT ACT WILL TAKE PLACE WI FLW AREAS:
- AREA 8: 405711N0140004E-410632N0141943E-410306N0142548E-405925N0142035E-405711N0140004E
- AREA 9: 405711N0140004E-405753N0140601E-405259N0140213E-405711N0140004E
- AREA 10: 405753N0140601E-405815N0140928E-405314N0141019E-405259N0140213E-405753N0140601E
- AREA 11: 405815N0140928E-405925N0142035E-405314N0141019E-405815N0140928E
- AREA 12: 405259N0140213E-405314N0141019E-404946N0140638E-404931N0140439E-404642N0140524E-405259N0140213E
- AREA 13: 405235N0142136E-404830N0143513E-404424N0142726E-404756N0142137E-405235N0142136E
- AREA 14: 404830N0143513E-405235N0142136E-405731N0143502E-405448N0143658E-404830N0143513E
- AREA 15: 405858N0142544E-405902N0143232E-405731N0143502E-405520N0142905E-405858N0142544E (CAMPANIA REGION)

RMK: REAL ACTIVATION OF ABOVE MENTIONED AREAS WILL TAKE PLACE ON TACTICAL BASIS BY 'NAPOLI TWR' IN COOR WITH 'ROMA ACC'
F) GND G) 500FT AGL

W0883/26 VALID: 07-APR-26 0500 - 26-APR-26 1500
DAILY 0500-1500
CIV UNMANNED ACFT ACT WILL TAKE PLACE WI FLW AREA:
382735N0145722E-382735N0145727E-382729N0145729E-382729N0145724E-382735N0145722E / LIPARI ISLAND / ELEV 30M AGL
F) GND G) 30M AGL

W1001/26
TUE-THU 0001-2359
MIL UNMANNED ACT WILL TAKE PLACE WI FLW AREA 7.55NM RADIUS OF 431519N0111504E /SOVICILLE-SW SIENA/
F) GND G) 2700FT AMSL

W0817/26
FRI 2301-1200
LI R53/A/B/C/D 'VITERBO' DEACTIVATED.
RMK: AREA CANNOT BE PLANNED AND USED.
REF AIP ENR 5.1.2-15
F) SFC G) 4500FT AMSL

W0716/26
FRI 1100-SS, SAT 0600-1100
CIV UNMANNED ACFT ACTIVITY WILL TAKE PLACE WI FOLLOWING AREA:
422857N0115030E-422822N0115128E-422652N0115021E-422528N0115203E-422242N0114914E-422257N0114852E-422518N0115134E-422711N0114905E-422857N0115030E
/ TUSCANIA - W VITERBO / ELEV 300FT AGL
RMK: ACT SUBJ PRIOR COOR WITH VITERBO APP
F) GND G) 300FT AGL

W0903/26
THU FRI 0700-2300
FIRING ACTIVITY WILL TAKE PLACE WI AREA 0.16NM RADIUS OF 433256N0102513E /PARRANA SAN MARTINO-E LIVORNO/
F) SFC G) 2495FT AMSL

W0844/26
MON-FRI 0700-2200 EXC APR 06
MILITARY FIRING AREA /PERSANO-SE SALERNO/ ACT
REF AIP ENR 5.2.1.3-2
F) SFC G) 2400FT AMSL

W0904/26
MON-WED 0700-2300
FIRING ACTIVITY WILL TAKE PLACE WI AREA 0.027NM RADIUS OF
433333N0102458E /PARRANA SAN MARTINO-E LIVORNO/
F) SFC G) 1900FT AMSL

W0851/26
MON-FRI 0600-2000 EXC APR 06
MILITARY FIRING AREA /MASSERIA DEI CIPPI-SW PALERMO/ **ACTIVATED** REF
AIP ENR 5.2.1.3-1
F) SFC G) 3000FT AMSL

W0855/26
MON-FRI 0600-2000 EXC APR 06
MILITARY FIRING AREA /SANTA BARBARA-WSW MESSINA/ **ACTIVATED**
REF AIP ENR 5.2.1.3-2
F) SFC G) 2200FT AMSL

W0840/26
MON-FRI 0500-1200
MILITARY FIRING AREA /LAGO OMODEO-SW NUORO/ **ACTIVATED**
REF AIP ENR 5.2.1.3-1
F) SFC G) 7000FT AMSL

W0902/26
MIL UNMANNED ACFT ACT WILL TAKE PLACE 2,1NM RADIUS OF
431652N0103107E
/CECINA-S LIVORNO/
F) GND G) 1000FT AGL

E0744/26
NEW PROHIBITED AREA IMPLEMENTED WITH FOLLOWING CHARACTERISTICS:
IDENTIFICATION: LI P739
NAME: FORTE BOCCEA
LATERAL LIMITS: 0.2NM RADIUS OF 415408N0122502E
UPPER LIMIT/LOWER LIMIT: GND/ 1000FT AGL
TYPE OF ACTIVITY: PROTECTED BUILDINGS OVERFLYING INTERDICTION
REMARKS: VFR/IFR TRAFFIC AND UAS PROHIBITED EXCEPT STATE ACFT,
HEMS (HEL EMERG MEDICAL SER) AND TFC TO/FM ROMA CIAMPINO (LIRA)
REF AIP ENR 5.1.1 'PROHIBITED AREAS'
F) GND G) 1000FT AGL

W0709/26
DAILY 0600-1800 EXC APR 05 06 MAY 01
MIL PJE WILL TAKE PLACE WI AREA 0.5NM RADIUS OF 433526N0104156E
/CAPANNOLI-ESE PISA/
RMK: ACT SUBJ APPROVAL BY AND CONS RDO CTC WITH ROMA ACC
F) GND G) FL080

W0838/26
MON-FRI 0600-2000 EXC MAR 31 APR 06
MILITARY FIRING AREA / SAN MATTEO - ENE TRAPANI / **ACTIVATED.**
REF AIP ENR 5.2.1.3-2
F) SFC G) 1650FT AMSL

W0776/26
TEMPORARY RESTRICTED AREA IMPLEMENTED AS FLW:
404328N0083203E-404336N0083204E-404334N0083215E
404327N0083213E-404328N0083203E
/SASSARI/ ELEV 56M AGL
DUE TO CIV UNMANNED ACFT ACTIVITY
F) GND G) 56M AGL

W0738/26
MON-FRI SR-SS PLUS30 EXC APR 06 MAY 01 JUN 02
MIL PJE WILL TAKE PLACE WI FLW AREA:
431620N0103500E-431247N0105000E-425607N0104032E-
425341N0102744E-431218N0102907E-431620N0103500E
(SE LIVORNO)
F) SFC G) FL180

W0733/26
MAR 10-MAR 28 0700-1600, MAR 29-APR 30 0600-1500
CIV UNMANNED ACFT ACTIVITY WILL TAKE PLACE WI FLW AREA:
412751N0124155E-412446N0124840E-412228N0124744E-
412542N0124018E-412751N0124155E / NETTUNO-W LATINA / ELEV 120M AGL
RMK: ACT SUBJ PRIOR COOR WITH LATINA TWR
F) GND G) 120M AGL

W0700/26
MAR 09-28 0600-1800, 29-JUN 06 0500-1700
CIV UNMANNED ACFT ACTIVITY IMPLEMENTED AS FLW:
380735N0132156E-380738N0132156E-380739N0132203E-
380736N0132205E-380735N0132156E / PALERMO HARBOUR/ ELEV 50M AGL F)
GND G) 50M AGL

W0560/26
MAR 06-28 0800-1600, MAR 29-JUN 02 0700-1500
ASCENT OF FREE BALLOONS WILL TAKE PLACE WI AREA 1KM
RADIUS OF 432848N0114835E / AREZZO TOWN / ELEV 35000M AMSL
BALLOONS CHARACTERISTICS:
CATEGORY: LIGHT
F) GND G) UNL

W0629/26
TEMPORARY RESTRICTED AREA IMPLEMENTED AS FLW:
380034N0122808E-380153N0123123E-375919N0124033E
375632N0123832E-375857N0123117E-375913N0123201E
380016N0123205E-380034N0122808E /TRAPANI TOWN/ ELEV 250FT AGL
DUE TO CIV UNMANNED ACFT ACTIVITY
RMK: ACT SUBJ PRIOR COOR AND APPROVAL BY TRAPANI TWR/APP
F) GND G) 250FT AGL

W0507/26
MON-THU 0600-2300, FRI 0600-1800
MIL UNMANNED ACFT ACTIVITY WILL TAKE PLACE WI FLW AREA:
414643N0133854E-414647N0134432E-414209N0134620E-414115N0133929E-
414643N0133854E /COLLE TERELLE - ENE FROSINONE/
RMK: ACT SUBJ PRIOR COOR WITH ROMA ACC
F) GND G) 6000FT AMSL

W0539/26
UNMANNED ACFT ACT WILL TAKE PLACE WI FLW IMPLEMENTED CORRIDORS:
- TC-MARGOT WEST
5NM EITHER SIDE LINE JOINING POINTS
412841N0110404E-414621N0094938E-414620N0094503E
VERTICAL LIMITS: FL220-FL230
- TC-MARGOT 01
5NM EITHER SIDE LINE JOINING POINTS
412841N0110404E-420521N0104624E-423840N0100407E-425719N0094500E
VERTICAL LIMITS: FL220-FL230
- TC-MARGOT 02
5NM EITHER SIDE LINE JOINING POINTS
405023N0112359E-412841N0110404E
VERTICAL LIMITS: FL220-FL230
- TC-MARGOT 03
5NM EITHER SIDE LINE JOINING POINTS
395211N0115328E-405023N0112359E
VERTICAL LIMITS: FL220-FL230
- TC-MARGOT 04
5NM EITHER SIDE LINE JOINING POINTS
383341N0115703E-395211N0115328E
VERTICAL LIMITS: FL190-FL220
- TC-MARGOT 05
5NM EITHER SIDE LINE JOINING POINTS
372851N0115845E-383341N0115703E
VERTICAL LIMITS: FL150-FL190
RMK: REAL ACTIVATION OF ABOVE MENTIONED CORRIDORS WILL TAKE PLACE
ON TACTICAL BASIS UPON COORDINATION BTN ROMA ACC/ROMA ITALIAN
AIR FORCE COORDINATION AND CONTROL SERVICE (SCCAM).
F) FL150 G) FL230

W0483/26
FEB 19-MAR 24 0800-1700, MAR 25-MAY 04 0700-1600
TEMPORARY RESTRICTED AREAS IMPLEMENTED AS FLW:
AREA 1:
410403N0140635E-410357N0140632E-410351N0140648E
410357N0140652E-410403N0140635E
AREA 2
410155N0140146E-410201N0140201E-410157N0140203E
410152N0140149E-410155N0140146E
AREA 3
410317N0140207E-410322N0140220E-410314N0140225E
410309N0140213E-410317N0140207E
AREA 4
410454N0140403E-410458N0140407E-410437N0140408E
410437N0140403E-410454N0140403E / GRAZZANISE-W CASERTA / ELEV
131FT AGL DUE TO CIV UNMANNED ACFT ACTIVITY
RMK: ACT SUBJ PRIOR COOR AND APPROVAL BY GRAZZANISE APP
F) GND G) 131FT AGL

W0363/26
FEB 16-MAR 28 0700-1600, MAR 29-MAY 16 0600-1500
CIV UNMANNED ACFT ACTIVITY WILL TAKE PLACE WI 150M RADIUS OF
415610N0122546E /ROMA TOWN/ ELEV 30M AGL
F) GND G) 30M AGL

W0332/26
ASCENT OF FREE BALLOONS WILL TAKE PLACE WI FLW AREA:
432037N0103249E-431455N0105450E-430419N0104248E-
430650N0103340E-431723N0103438E-432037N0103249E
/GUARDISTALLO-MONTEVERDI MARITTIMO-SE LIVORNO/ELEV 130000FT AGL
BALLOONS CHARACTERISTICS:
1-COLOUR: WHITE
2-DIAMETER: 1.8M
3-WEIGHT 4KG MAX
4-CATEGORY LIGHT
F) GND G) UNL

W0177/26
LI TSA626-CARLOFORTE **SUSPENDED** DUE TO TECR
RMK: AREA CANNOT BE PLANNED AND USED
REF AIP ENR 5.1.4-22
F) FL340 G) FL600

W0176/26
LI D122/B 'SPARTIVENTO' **SUSPENDED** DUE TO TECR
RMK: AREA CANNOT BE PLANNED AND USED
REF AIP ENR 5.1.3-11
F) FL270 G) FL340

E2767/25
NEW PROHIBITED AREA IMPLEMENTED WITH FOLLOWING CHARACTERISTICS:
- IDENTIFICATION LI P734
NAME: TORRE DI POGLINA
LATERAL LIMITS: LINE JOINING POINT
402955N0082123E-402959N0082113E-
403011N0082052E-403004N0082045E-402959N0082029E-403001N0082016E-
403014N0082034E-403020N0082041E-403022N0082058E-403024N0082114E-
403018N0082122E-403008N0082134E-402955N0082123E
UPPER LIMIT/LOWER LIMIT: GND/1500FT AGL
TYPE OF ACTIVITY: PROTECTED BUILDINGS OVERFLYING INTERDICTION
REMARKS: VFR AND UAS AIR TRAFFIC PROHIBITED
REF AIP ENR 5.1.1-1 'PROHIBITED AREAS'
F) SFC G) 1500FT AGL

E2766/25
NEW PROHIBITED AREA IMPLEMENTED WITH FOLLOWING
CHARACTERISTICS:
- IDENTIFICATION LI P733
NAME: SUD EST MARINA DI CERVETERI
- LATERAL LIMITS: LINE JOINING POINT
415848N0120357E-415823N0120442E-
415808N0120438E-415757N0120428E-415759N0120414E-415806N0120353E-
415817N0120340E-415832N0120336E-415848N0120357E
- UPPER LIMIT/LOWER LIMIT: GND/1500FT AGL
REMARKS: VFR AND UAS AIR TRAFFIC PROHIBITED
REF AIP ENR 5.1.1-1 'PROHIBITED AREAS'
F) SFC G) 1500FT AGL

E2765/25
NEW PROHIBITED AREA IMPLEMENTED WITH FOLLOWING CHARACTERISTICS:
- IDENTIFICATION LI P732
NAME: TOR SAPIENZA
LATERAL LIMITS: LINE JOINING POINT
415401N0123538E-415403N0123608E-
415334N0123611E-415335N0123541E-415401N0123538E
UPPER LIMIT/LOWER LIMIT: GND/1500FT AGL
TYPE OF ACTIVITY: PROTECTED BUILDINGS OVERFLYING INTERDICTION
REMARKS: VFR AND UAS AIR TRAFFIC PROHIBITED
REF AIP ENR 5.1.1-1 'PROHIBITED AREAS'
F) SFC G) 1500FT AGL

E2764/25
NEW PROHIBITED AREA IMPLEMENTED WITH FOLLOWING CHARACTERISTICS:
- IDENTIFICATION LI P731
NAME: PINETA SACCHETTI
LATERAL LIMITS: LINE JOINING POINT
415502N0122518E-415505N0122535E-
415456N0122545E-415452N0122542E-415446N0122530E-415444N0122524E-
415445N0122518E-415451N0122518E-415457N0122519E-415502N0122518E
UPPER LIMIT/LOWER LIMIT: GND/1500FT AGL
TYPE OF ACTIVITY: PROTECTED BUILDINGS OVERFLYING INTERDICTION
REMARKS: VFR AND UAS AIR TRAFFIC PROHIBITED
REF AIP ENR 5.1.1-1 'PROHIBITED AREAS'
F) SFC G) 1500FT AGL

++++++++++++++++++++++++++++ ROUTE ++++++++++++++++++++++++++++++

E0481/26
TRIGGER NOTAM-PERM AIP AIRAC AMDT 4/26 EFFECTIVE DATE 16 APR 2026
ENR 3.2 AREA NAVIGATION ROUTES
REVIEW OF THE FOLLOWING ATS ROUTES:
-M729
-M730
-M858
-M859
-M985
-Q713
-T772
-Y15
AIRAC IS POSTED AND **AVBL** ON WEBSITE WWW.ENAV.IT

==========
EXTENDED AREA AROUND DESTINATION
==========

LECB BARCELONA FIR/UIR

++++++++++++++++++++++++++++ FIR/UIR ++++++++++++++++++++++++++++++

B2003/26
TRIGGER NOTAM - PERM AIRAC AIP AMDT 03/26 WEF 16-APR-26.
ENR 1.5.
- HOLDING PATTERN INCOMPATIBILITIES IN TMA
VALENCIA
B2948/26
TRIGGER NOTAM- AIP SUP 77/26 WEF 16-APR-26 TO 16-APR-27 EST.
FIR BARCELONA.- CID I WIND FARM UNDER CONSTRUCTION
B2949/26
TRIGGER NOTAM- AIP SUP 76/26 WEF 16-APR-26 TO 16-APR-27 EST.
FIR BARCELONA.- LA ESTRELLA IV WIND FARM UNDER CONSTRUCTION
B2951/26
TRIGGER NOTAM- AIP SUP 74/26 WEF 16-APR-26 TO 16-APR-27 EST.
FIR BARCELONA.- CABECERO III WIND FARM UNDER CONSTRUCTION
B2954/26
TRIGGER NOTAM- AIP SUP 71/26 WEF 16-APR-26 TO 16-APR-27 EST.
FIR BARCELONA.- CID III WIND FARM UNDER CONSTRUCTION
B2955/26
TRIGGER NOTAM- AIP SUP 73/26 WEF 16-APR-26 TO 16-APR-27 EST.
FIR BARCELONA.- EL CABECERO II WIND FARM UNDER CONSTRUCTION

B2956/26
TRIGGER NOTAM- AIP SUP 70/26 WEF 16-APR-26 TO 16-APR-27 EST.
FIR BARCELONA.- CONCEJO III WIND FARM UNDER CONSTRUCTION
B2957/26
TRIGGER NOTAM- AIP SUP 69/26 WEF 16-APR-26 TO 16-APR-27 EST.
FIR BARCELONA.- VACADA I WIN FARM UNDER CONSTRUCTION
B2959/26
TRIGGER NOTAM- AIP SUP 67/26 WEF 16-APR-26 TO 16-APR-27 EST.
FIR BARCELONA.- CONCEJO I WIND FARM UNDER CONSTRUCTION
B2961/26
TRIGGER NOTAM- AIP SUP 66/26 WEF 16-APR-26 TO 16-APR-27 EST.FIR
BARCELONA.- CID IV WIND FARM UNDER CONSTRUCTION
B2962/26
TRIGGER NOTAM- AIP SUP 65/26 WEF 16-APR-26 TO 16-APR-27 EST.
FIR BARCELONA.- EL CABECERO IV WIND FARM UNDER CONSTRUCTION
B2963/26
TRIGGER NOTAM- AIP SUP 64/26 WEF 16-APR-26 TO 16-APR-27 EST.
FIR BARCELONA.- LA ESTRELLA II WIND FARM UNDER CONSTRUCTION
B2965/26
TRIGGER NOTAM- AIP SUP 63/26 WEF 16-APR-26 TO 16-APR-27 EST.
FIR BARCELONA.- LA ESTRELLA I WIND FARM UNDER CONSTRUCTION
B2966/26
TRIGGER NOTAM- AIP SUP 62/26 WEF 16-APR-26 TO 16-APR-27 EST.
FIR BARCELONA.- VACADA VI WIND FARM UNDER CONSTRUCTION
B2967/26
TRIGGER NOTAM- AIP SUP 61/26 WEF 16-APR-26 TO 16-APR-27 EST.
FIR BARCELONA.- LA VACADA III WIND FARM UNDER CONSTRUCTION
B2968/26
TRIGGER NOTAM- AIP SUP 60/26 WEF 16-APR-26 TO 16-APR-27 EST.
FIR BARCELONA.- CONCEJO II WIND FARM UNDER CONSTRUCTION
B2970/26
TRIGGER NOTAM- AIP SUP 59/26 WEF 16-APR-26 TO 16-APR-27 EST.
FIR BARCELONA.- LA VACADA II WIND FARM UNDER CONSTRUCTION
B1231/26
MILITARY INVASION OF UKRAINE BY RUSSIAN FEDERATION:
ALL AIRCRAFT OWNED, CHARTERED OR OPERATED OR OTHERWISE CONTROLLED
BY CITIZENS OF THE RUSSIAN FEDERATION AND ALL OPERATORS HOLDING
AIR OPERATOR CERTIFICATE (AOC) ISSUED BY THE RUSSIAN FEDERATION
AUTHORITIES ARE PROHIBITED TO ENTER, EXIT OR OVERFLY SPANISH
AIRSPACE EXCEPT HUMANITARIAN, SAR AND LEASED AIRCRAFT ONE-WAY
RETURN FLIGHTS WITH THE PERMISSION OF THE APPROPRIATE SPANISH
AUTHORITIES AND IN CASE OF EMERGENCY LANDING OR EMERGENCY
OVERFLIGHT. REQUESTS FOR HUMANITARIAN FLIGHTS SHALL BE SENT TO THE
CONCERNED SPANISH AIRPORT OPERATOR.
B1229/26
IN ACCORDANCE WITH COUNCIL DECISION (CFSP) 2021/908 , PERMISSION
TO LAND IN, TAKE-OFF FROM OR OVERFLY THE TERRITORY OF SPAIN SHALL
BE DENIED TO ANY AIRCRAFT OPERATED BY BELARUSIAN AIR CARRIERS,
INCLUDING AS A MARKETING CARRIER IN CODE-SHARING OR BLOCKED-SPACE
ARRANGEMENTS.
PREVIOUS PARAGRAPH SHALL NOT APPLY IN THE CASE OF AN EMERGENCY
LANDING OR AN EMERGENCY OVERFLIGHT. SPANISH AUTHORITIES MAY
DETERMINE NOT APPLICABILITY OF THE PARAGRAPH ABOVE WHEN A LANDING,
TAKE-OFF OR OVERFLIGHT IS REQUIRED FOR HUMANITARIAN PURPOSES OR
ANY OTHER PURPOSES.
B7868/25
ARCC PALMA SERVICE COORDINATOR **AVBL** H24 ONLY FM MON 0800LT
TO SAT 0800LT (NOT HOL).
DURING THE REST OF THE TIME THE SERVICE COORDINATOR WILL HAVE
A REACTION TIME OF ONE HOUR, IN THIS REACTION PERIOD THE SERVICE
WILL BE ASSUMED BY THE ARCC MADRID SERVICE COORDINATOR.

++++++++++++++++++++++ RESTRICTED AIRSPACE ++++++++++++++++++++++

D2009/26 VALID: 25-APR-26 0800 - 26-APR-26 1600
0800-1600
AIR EXERCISES OF PARAGLIDING WILL TAKE PLACE WI COORD:
ZONA 1: SFC/6.500FT AMSL
395558N 0010940W
395925N 0010218W
394758N 0004830W
394656N 0005632W
395558N 0010940W
VALENCIA, COMUNIDAD VALENCIANA
F) SFC G) 06500FT AMSL

D2012/26 VALID: 25-APR-26 0800 - 26-APR-26 1600
0800-1600
AIR EXERCISES OF PARAGLIDING WILL TAKE PLACE ON
ZONE 2: SFC/4.500FT AMSL
394656N 0005619W
394120N 0005222W
394546N 0004728W
394746N 0004917W
394656N 0005619W
VALENCIA, COMUNIDAD VALENCIANA
F) SFC G) 04500FT AMSL

D2020/26
TEMPO SEGREGATED AREA **ACTIVATED** FOR UNMANNED ACFT
FLYING WI 4000M RADIUS CENTERED ON COORD:385222N 0010427W
ALMANSA, ALBACETE
RMK:
FORCES AND CORPS OF STATE SECURITY CIVIL GUARD
COORDINATION PHONE NUMBER: +34 609 630 307 / +34 627 668 183
F) SFC G) 00170M AGL

D1175/26
APR 22-24 0600-2200, MAY 27-29 0600-2200, JUN 17-19 0600-2200, SEP 30 0600-2200, OCT 01-02 0600-2200
TEMPORARY RESTRICTED AREA FOR SAR EXERCISES WITH PJE AND
LIFE RAFT CHAINS LAUNCHING WI 395400N 0030400E,
400600N 0031600E, 395600N 0032900E, 395100N 0030600E,
395400N 0030400E
MALLORCA/POLLENSA
RMK: THE ACTIVATION/DEACTIVATION OF THIS AREA WILL BE CARRIED OUT
IN REAL TIME BY TACTICAL COORDINATION WITH ECAO (OPERATIVE
AIR TRAFFIC SQUADRON) BARCELONA.
F) SFC G) 06500FT AMSL

D1620/26
21-22 28-29 0830-1130
TEMPORARY SEGREGATED AREA FOR UNMANNED ACFT VEHICLE
FLYING ACT WI 394248N 0003515W, 394328N 0003234W,
394604N 0003148W, 394616N 0003548W, 394248N 0003515W
VALENCIA/SAGUNTO
RMK: THE ACTIVATION/DEACTIVATION OF THIS AREA WILL BE CARRIED OUT
IN REAL TIME BY TACTICAL COORDINATION WITH TACC VALENCIA
F) SFC G) 03500FT AMSL

D1437/26
APR 20-22 24 27-30 0700-1200, MAY 04-09 11-15 0700-1200
TEMPORARY SEGREGATED AREA FOR UNMANNED ACFT
VEHICLE FLYING ACT WI 413949N 0004405W,
414010N 0004450W, 414051N 0004511W, 414123N 0004451W,
414210N 0004257W, 414222N 0004159W, 414048N 0003934W,
414051N 0003830W, 414103N 0003811W, 414148N 0003745W,
414125N 0003546W, 414052N 0003346W, 414006N 0003226W,
413958N 0003145W, 414005N 0003025W, 413942N 0002901W,
413622N 0002352W, 413243N 0002545W, 413248N 0002926W,
413427N 0003447W, 413530N 0003745W, 413659N 0004015W,
413747N 0004108W, 413854N 0004347W, 413916N 0004417W,
413949N 0004405W
ZARAGOZA/MONEGROS
F) SFC G) 02500FT AMSL

D1910/26
TEMPO RESTRICTED AREA **ACTIVATED** FOR UNMANNED ACFT
WI COORD: 414411N 0013011E - 414701N 0013226E -
414510N 0013640E - 414213N 0013426E - 414411N 0013011E
CALAF, BARCELONA
RMK:
COORDINATION PHONE NUMBER: +34 637 347 056
CORDINATION MAIL: ITPG8372(AT)MOSSOS.CAT
F) SFC G) 00150M AGL

D1535/26
14-17 27-30 0000-1259
TEMPORARY SEGREGATED AREA FOR UNMANNED ACFT VEHICLE
FLYING ACT WI 393746N 0002836W, 393731N 0002853W,
393808N 0002927W, 393832N 0002905W, 393746N 0002836W
VALENCIA/EL MOJON 1
RMK: THE ACTIVATION/DEACTIVATION OF THIS AREA WILL BE CARRIED OUT
IN REAL TIME BY TACTICAL COORDINATION WITH ECAO (OPERATIVE
AIR TRAFFIC SQUADRON) BARCELONA.
F) SFC G) 00951FT AMSL

D1536/26
14-17 27-30 0000-1259
TEMPORARY SEGREGATED AREA FOR UNMANNED ACFT VEHICLE
FLYING ACT WI 393851N 0002847W, 393843N 0002821W,
393818N 0002816W, 393802N 0002806W, 393746N 0002804W,
393746N 0002836W, 393832N 0002905W, 393851N 0002847W
VALENCIA/EL MOJON 2
RMK: THE ACTIVATION/DEACTIVATION OF THIS AREA WILL BE CARRIED OUT
IN REAL TIME BY TACTICAL COORDINA
F) SFC G) 00951FT AMSL

D1537/26
14-17 27-30 0000-1259
TEMPORARY SEGREGATED AREA FOR UNMANNED ACFT VEHICLE
FLYING ACT WI 393848N 0003004W, 393902N 0002935W,
393851N 0002847W, 393808N 0002927W, 393848N 0003004W,
VALENCIA/EL MOJON 3
RMK: THE ACTIVATION/DEACTIVATION OF THIS AREA WILL BE CARRIED OUT
IN REAL TIME BY TACTICAL COORDINATION WITH ECAO (OPERATIVE
AIR TRAFFIC SQUADRON) BARCELONA.
F) SFC G) 00951FT AMSL

D1885/26

TEMPORARY SEGREGATED AREAS FOR UNMANNED ACFT VEHICLES
FLYING ACT AS FOLLOWS:
THE ACTIVATION/DEACTIVATION OF THESE AREAS WILL BE CARRIED OUT
IN REAL TIME BY TACTICAL COORDINATION WITH THE APPROPRIATE ECAO
(OPERATIVE AIR TRAFFIC SQUADRON) OR APP IN EACH AREA.
SEGREGATED AREAS:
TSA TALAVERA LOW AUTOMATICO
LATERAL LIMITS: CIRCLE OF 08NM RADIUS CENTRED ON
385329N 0064917W.
VERTICAL LIMITS: SFC/5000FT AMSL
DATES AND TIMES: APR 27 HR 1830-2359
APR 28 HR 0000-0600
RMK: EXCEPTED FLT (EMERGENCY SITUATIONS) MUST COORDINATE WITH ATC
UNIT APPROPIATE PROCEDURE, IF DEACTIVATION IS NOT FEASIBLE
BEFORE ENTERING THE AREA.
RMK: ANY FLT INTERESTED IN USING AFFECTED AIRSPACE MUST CONTACT
WITH TALAVERA APP/TWR IN ORDER TO UPDATE ACTIVATION STATUS.
TSA TALAVERA LOW
LATERAL LIMITS: CIRCLE OF 5,9NM RADIUS CENTRED ON
385329N 0064917W.
VERTICAL LIMITS: SFC/2500FT AMSL
LATERAL LIMITS: CIRCLE OF 08NM RADIUS CENTRED ON
385329N 0064917W.
VERTICAL LIMITS: 2500FT/5000FT AMSL
DATES AND TIMES: APR 27 HR 1830-2359
APR 28 HR 0000-0600
RMK: EXCEPTED FLT (EMERGENCY SITUATIONS) MUST COORDINATE WITH ATC
UNIT APPROPIATE PROCEDURE, IF DEACTIVATION IS NOT FEASIBLE
BEFORE ENTERING THE AREA.
RMK: ANY FLT INTERESTED IN USING AFFECTED AIRSPACE MUST CONTACT
WITH TALAVERA APP/TWR IN ORDER TO UPDATE ACTIVATION STATUS.

LATERAL LIMITS: 385658N 0065446W, 385036N 0064303W,
FROM THIS POINT FOLLOWING AN ARC OF 5,9NM
RADIUS CENTRED ON 385329N 0064917W
COUNTER CLOCKWISE UP TO 385658N 0065446W.
VERTICAL LIMITS: SFC/2500FT AMSL
LATERAL LIMITS: 385821N 0065723W, 384911N 0064030W,
FROM THIS POINT FOLLOWING AN ARC OF 08NM
RADIUS CENTRED ON 385329N 0064917W
COUNTER CLOCKWISE UP TO 385821N 0065723W.
VERTICAL LIMITS: 2500FT AMSL/5000FT AMSL
DATES AND TIMES: APR 27 HR 1830-2359
APR 28 HR 0000-0600
RMK: EXCEPTED FLT (EMERGENCY SITUATIONS) MUST COORDINATE WITH ATC
UNIT APPROPIATE PROCEDURE, IF DEACTIVATION IS NOT FEASIBLE
BEFORE ENTERING THE AREA.
RMK: ANY FLT INTERESTED IN USING AFFECTED AIRSPACE MUST CONTACT
WITH TALAVERA APP/TWR IN ORDER TO UPDATE ACTIVATION STATUS.
TSA TALAVERA LOW SOUTH LATERAL LIMITS: 385609N 0065527W,
384948N 0064351W,
FROM THIS POINT FOLLOWING AN ARC OF 5,9NM
RADIUS CENTRED ON 385329N 0064917W
CLOCKWISE UP TO 385609N 0065527W.
VERTICAL LIMITS: SFC/2500FT AMSL
LATERAL LIMITS: 385734N 0065803W, 384821N 0064118W,
FROM THIS POINT FOLLOWING AN ARC OF 08NM
RADIUS CENTRED ON 385329N 0064917W
CLOCKWISE UP TO 385734N 0065803W.
VERTICAL LIMITS: 2500FT AMSL/5000FT

DATES AND TIMES: APR 27 HR 1830-2359
APR 28 HR 0000-0600
RMK: EXCEPTED FLT (EMERGENCY SITUATIONS) MUST COORDINATE WITH ATC UNIT APPROPIATE PROCEDURE, IF DEACTIVATION IS NOT FEASIBLE BEFORE ENTERING THE AREA.
RMK: ANY FLT INTERESTED IN USING AFFECTED AIRSPACE MUST CONTACT WITH TALAVERA APP/TWR IN ORDER TO UPDATE ACTIVATION STATUS.
TSA TALAVERA MEDIUM
LATERAL LIMITS: CIRCLE OF 08NM RADIUS CENTRED ON 385329N 0064917W.
VERTICAL LIMITS: 4000FT AMSL/FL080
DATES AND TIMES: APR 27 HR 1830-2359
APR 28 HR 0000-0600
RMK: EXCEPTED FLT (EMERGENCY SITUATIONS) MUST COORDINATE WITH ATC UNIT APPROPIATE PROCEDURE, IF DEACTIVATION IS NOT FEASIBLE BEFORE ENTERING THE AREA.
RMK: ANY FLT INTERESTED IN USING AFFECTED AIRSPACE MUST CONTACT WITH TALAVERA APP/TWR IN ORDER TO UPDATE ACTIVATION STATUS.
TSA TALAVERA HIGH
LATERAL LIMITS: 391229N 0064931W, 390454N 0062537W, 383332N 0064905W, 384300N 0070639W, 391229N 0064931W.
VERTICAL LIMITS: 7000FT AMSL/FL140
DATES AND TIMES: APR 27 HR 1830-2359
APR 28 HR 0000-0600
RMK: ANY FLT INTERESTED IN USING AFFECTED AIRSPACE MUST CONTACT WITH TALAVERA APP/TWR IN ORDER TO UPDATE ACTIVATION STATUS.
TSA TALAVERA HIGH SOUTH
LATERAL LIMITS: 384300N 0070639W, 383332N 0064905W, 384953N 0063651W, 385525N 0065926W,

384300N 0070639W.
VERTICAL LIMITS: 7000FT AMSL/FL140
DATES AND TIMES: APR 27 HR 1830-2359
APR 28 HR 0000-0600
RMK: ANY FLT INTERESTED IN USING AFFECTED AIRSPACE MUST CONTACT WITH TALAVERA APP/TWR IN ORDER TO UPDATE ACTIVATION STATUS.
TSA TALAVERA HIGH NORTH
LATERAL LIMITS: 391229N 0064932W, 390454N 0062537W, 384953N 0063651W, 385525N 0065926W, 391229N 0064932W.
VERTICAL LIMITS: 7000FT AMSL/FL140
DATES AND TIMES: APR 27 HR 1830-2359
APR 28 HR 0000-0600
RMK: ANY FLT INTERESTED IN USING AFFECTED AIRSPACE MUST CONTACT WITH TALAVERA APP/TWR IN ORDER TO UPDATE ACTIVATION STATUS.
TSA LAST SIX LOW
LATERAL LIMITS: CIRCLE OF 04NM RADIUS CENTRED ON 390120N 0064400W.
VERTICAL LIMITS: SFC/FL260
DATES AND TIMES: APR 27 HR 1830-2359
APR 28 HR 0000-0600
RMK: ANY FLT INTERESTED IN USING AFFECTED AIRSPACE MUST CONTACT WITH TALAVERA APP/TWR IN ORDER TO UPDATE ACTIVATION STATUS.
TSA LAST SIX HIGH
LATERAL LIMITS: CIRCLE OF 04NM RADIUS CENTRED ON 390120N 0064400W.
VERTICAL LIMITS: FL250/FL350
DATES AND TIMES: APR 27 HR 1830-2359
APR 28 HR 0000-0600
RMK: ANY FLT INTERESTED IN USING AFFECTED AIRSPACE MUST CONTACT WITH TALAVERA APP/TWR IN ORDER TO UPDATE ACTIVATION STATUS.

TSA SECTOR 5

LATERAL LIMITS: 381410N 0065147W, 381134N 0070505W,
382701N 0071726W, 384416N 0071216W,
384728N 0065940W, 384459N 0065521W,
384308N 0064814W, 381410N 0065147W.
VERTICAL LIMITS: FL100/FL350
DATES AND TIMES: APR 27 HR 1830-2359
APR 28 HR 0000-0600
RMK: ANY FLT INTERESTED IN USING AFFECTED AIRSPACE MUST CONTACT
WITH TALAVERA APP/TWR IN ORDER TO UPDATE ACTIVATION STATUS.
TSA SECTOR 5 LOW
LATERAL LIMITS: 381410N 0065147W, 381134N 0070505W,
382701N 0071726W, 384416N 0071216W,
384728N 0065940W, 384459N 0065521W,
384308N 0064814W, 381410N 0065147W.
VERTICAL LIMITS: FL100/FL150
DATES AND TIMES: APR 27 HR 1830-2359
APR 28 HR 0000-0600
RMK: ANY FLT INTERESTED IN USING AFFECTED AIRSPACE MUST CONTACT
WITH TALAVERA APP/TWR IN ORDER TO UPDATE ACTIVATION STATUS.
TSA SECTOR 5 HIGH
LATERAL LIMITS: 381410N 0065147W, 381134N 0070505W,
382701N 0071726W, 384416N 0071216W,
384728N 0065940W, 384459N 0065521W,
384308N 0064814W, 381410N 0065147W.
VERTICAL LIMITS: FL150/FL350
DATES AND TIMES: APR 27 HR 1830-2359
APR 28 HR 0000-0600 RMK: ANY FLT INTERESTED IN USING AFFECTED
AIRSPACE MUST CONTACT
WITH TALAVERA APP/TWR IN ORDER TO UPDATE ACTIVATION
STATUS. TSA PASILLO ZAFRA EAST
LATERAL LIMITS: 383208N 0055329W, 380625N 0060155W,
375951N 0060826W, 383800N 0063728W,
383951N 0063412W, 384401N 0063002W,
383208N 0055329W.
VERTICAL LIMITS: FL260/FL350
DATES AND TIMES: APR 27 HR 1830-2359
APR 28 HR 0000-0600
RMK: ANY FLT INTERESTED IN USING AFFECTED AIRSPACE MUST CONTACT
WITH TALAVERA APP/TWR IN ORDER TO UPDATE ACTIVATION STATUS.
TSA PASILLO ZAFRA WEST
LATERAL LIMITS: 375951N 0060826W, 374856N 0062400W,
380157N 0065306W, 383549N 0064908W,
383601N 0064437W, 383800N 0063728W,
375951N 0060826W.
VERTICAL LIMITS: FL260/FL350
DATES AND TIMES: APR 27 HR 1830-2359
APR 28 HR 0000-0600
RMK: ANY FLT INTERESTED IN USING AFFECTED AIRSPACE MUST CONTACT
WITH TALAVERA APP/TWR IN ORDER TO UPDATE ACTIVATION STATUS.
TSA FITA
LATERAL LIMITS: 363246N 0063706W, 363020N 0063736W,
363121N 0064944W, 363326N 0064946W,
364443N 0064943W, 365729N 0063252W,
371030N 0063723W, 371540N 0061153W,
371526N 0055503W, 364638N 0060004W,
363246N 0063706W.
VERTICAL LIMITS: FL245/FL275
DATES AND TIMES: APR 27 HR 2300-2359
APR 28 HR 0000-0430

LATERAL LIMITS: 383244N 0065303W, 375354N 0063241W, 380343N 0065655W, 383244N 0065303W.
VERTICAL LIMITS: FL245/FL275
DATES AND TIMES: APR 06 15-16 20 29 HR 0600-1800
APR 27 HR 1500-2359
APR 28 HR 0000-0600
RMK: ANY FLT INTERESTED IN USING AFFECTED AIRSPACE MUST CONTACT WITH TALAVERA APP/TWR IN ORDER TO UPDATE ACTIVATION STATUS.
TSA PASILLO HUELVA WHISKY
LATERAL LIMITS: 380456N 0064521W, 375913N 0063315W, 375048N 0070541W, 373231N 0071738W, 372835N 0071609W, 372806N 0071315W, 372841N 0070930W, 371546N 0070423W, 371642N 0071421W, 371950N 0071533W, 372106N 0072431W, 373321N 0072911W, 375753N 0071313W, 380456N 0064521W.
VERTICAL LIMITS: FL245/FL275
DATES AND TIMES: APR 06 15-16 20 29 HR 0600-1800
APR 27 HR 1500-2359
APR 28 HR 0000-0600
TSA PASILLO HUELVA
LATERAL LIMITS: 380535N 0064722W, 380020N 0063559W, 371840N 0070733W, 372027N 0071943W, 380535N 0064722W.
VERTICAL LIMITS: FL245/FL275
DATES AND TIMES: APR 06 15-16 20 29 HR 0600-1800
APR 27 HR 1500-2359
APR 28 HR 0000-0600
RMK: THE AREA WILL BE PLANNABLE WITH ACTIVATION/DEACTIVATION BY TACTICAL COORDINATION WITH ECAO (OPERATIVE AIR TRAFFIC

TSA ANDEVALO
LATERAL LIMITS: 372343N 0071707W, 372516N 0070807W, 370053N 0065830W, 365908N 0070718W, 372343N 0071707W.
VERTICAL LIMITS: FL245/FL275
DATES AND TIMES: APR 06 15-16 20 29 HR 0600-1800
APR 27 HR 1500-2359
APR 28 HR 0000-0600
RMK: THE AREA WILL BE PLANNABLE WITH ACTIVATION/DEACTIVATION BY TACTICAL COORDINATION WITH ECAO (OPERATIVE AIR TRAFFIC SQUADRON) SEVILLA.
TSA GOLFO
LATERAL LIMITS: 365532N 0072130W, 370423N 0070923W, 370536N 0070136W, 365032N 0064303W, 363556N 0064301W, 363452N 0063303W, 355130N 0064230W, 355700N 0072130W, 365532N 0072130W.
VERTICAL LIMITS: FL245/FL275
DATES AND TIMES: APR 06 15-16 20 29 HR 0600-1800
APR 27 HR 1500-2359
APR 28 HR 0000-0600
TSA GOLFO NORTH
LATERAL LIMITS: 370324N 0071202W, 370538N 0070010W, 362751N 0064849W, 362544N 0070058W, 370324N 0071202W.
VERTICAL LIMITS: FL245/FL275
DATES AND TIMES: APR 06 15-16 20 29 HR 0600-1800
APR 27 HR 1500-2359
APR 28 HR 0000-0600
RMK: THE AREA WILL BE PLANNABLE WITH ACTIVATION/DEACTIVATION BY TACTICAL COORDINATION WITH ECAO (OPERATIVE AIR TRAFFIC

SQUADRON) SEVILLA.
TSA GOLFO SOUTH

355048N 0063726W, 355029N 0065044W,
363035N 0070224W.
VERTICAL LIMITS: FL245/FL275
DATES AND TIMES: APR 06 15-16 20 29 HR 0600-1800
APR 27 HR 1500-2359
APR 28 HR 0000-0600
RMK: THE AREA WILL BE PLANNABLE WITH ACTIVATION/DEACTIVATION BY
TACTICAL COORDINATION WITH ECAO (OPERATIVE AIR TRAFFIC
SQUADRON) SEVILLA.
TSA ESTRECHO 1W
LATERAL LIMITS: 355827N 0064739W, 355832N 0061514W,
355117N 0062132W, 355037N 0064945W,
355827N 0064739W.
VERTICAL LIMITS: FL245/FL275
DATES AND TIMES: APR 06 15-16 20 29 HR 0600-1800
APR 27 HR 1500-2359
APR 28 HR 0000-0600
RMK: THE AREA WILL BE PLANNABLE WITH ACTIVATION/DEACTIVATION BY
TACTICAL COORDINATION WITH ECAO (OPERATIVE AIR TRAFFIC
SQUADRON) SEVILLA.
TSA ESTRECHO 1E
LATERAL LIMITS: 355108N 0062449W, 355834N 0061829W,
355838N 0055331W, 355202N 0055256W,
355108N 0062449W.
VERTICAL LIMITS: FL245/FL275
DATES AND TIMES: APR 06 15-16 20 29 HR 0600-1800
APR 27 HR 1500-2359
APR 28 HR 0000-0600
RMK: THE AREA WILL BE PLANNABLE WITH ACTIVATION/DEACTIVATION BY
TACTICAL COORDINATION WITH ECAO (OPERATIVE AIR TRAFFIC
SQUADRON) SEVILLA.
TSA ESTRECHO 2
LATERAL LIMITS: 355211N 0055413W, 355700N 0052900W,

355551N 0050739W, 360501N 0050012W,
360457N 0052249W, 360104N 0055442W,
355211N 0055413W.
VERTICAL LIMITS: FL245/FL275
DATES AND TIMES: APR 06 15-16 20 29 HR 0600-1800
APR 27 HR 1500-2359
APR 28 HR 0000-0600
TSA ESTRECHO 3
LATERAL LIMITS: 355551N 0050937W, 355545N 0045332W,
360450N 0044817W, 360455N 0050217W,
355551N 0050937W.
VERTICAL LIMITS: FL245/FL275
DATES AND TIMES: APR 06 15-16 20 29 HR 0600-1800
APR 27 HR 1500-2359
APR 28 HR 0000-0600
RMK: THE AREA WILL BE PLANNABLE WITH ACTIVATION/DEACTIVATION BY
TACTICAL COORDINATION WITH ECAO (OPERATIVE AIR TRAFFIC
SQUADRON) SEVILLA.
TSA CORREDOR SUR 1 HIGH
LATERAL LIMITS: 355043N 0034221W, 361034N 0040128W,
361010N 0044002W, 360451N 0044340W,
360451N 0045319W, 355549N 0050024W,
355543N 0045005W, 355007N 0045348W,
355043N 0034221W.
VERTICAL LIMITS: FL245/FL275

DATES AND TIMES: APR 06 15-16 20 29 HR 0600-1800
APR 27 HR 1500-2359
APR 28 HR 0000-0600
TSA CORREDOR SUR 1 MEDIUM
LATERAL LIMITS: 355043N 0034221W, 361034N 0040128W,
361010N 0044002W, 360451N 0044340W,
360451N 0045319W, 355549N 0050024W,

355543N 0045005W, 355007N 0045348W,
355043N 0034221W.
VERTICAL LIMITS: FL175/FL265
DATES AND TIMES: APR 06 15-16 20 29 HR 0600-1800
APR 27 HR 1500-2359
APR 28 HR 0000-0600
RMK: THE AREA WILL BE PLANNABLE WITH ACTIVATION/DEACTIVATION BY
TACTICAL COORDINATION WITH ECAO (OPERATIVE AIR TRAFFIC
SQUADRON) SEVILLA.
TSA CORREDOR SUR 1 LOW
LATERAL LIMITS: 355043N 0034221W, 361034N 0040128W,
361010N 0044002W, 360451N 0044340W,
360451N 0045319W, 355549N 0050024W,
355543N 0045005W, 355007N 0045348W,
355043N 0034221W.
VERTICAL LIMITS: FL170/FL190
DATES AND TIMES: APR 06 15-16 20 29 HR 0600-1800
APR 27 HR 1500-2359
APR 28 HR 0000-0600
TSA CORREDOR SUR 2 HIGH
LATERAL LIMITS: 361038N 0040932W, 361032N 0023609W,
355042N 0025436W, 355037N 0035013W,
361038N 0040932W.
VERTICAL LIMITS: FL245/FL275
DATES AND TIMES: APR 06 15-16 20 29 HR 0600-1800
APR 27 HR 1500-2359
APR 28 HR 0000-0600
TSA CORREDOR SUR 2 LOW
LATERAL LIMITS: 361038N 0040932W, 361032N 0023609W,
355042N 0025436W, 355037N 0035013W,
361038N 0040932W.
VERTICAL LIMITS: FL170/FL190
DATES AND TIMES: APR 06 15-16 20 29 HR 0600-1800

APR 27 HR 1500-2359
APR 28 HR 0000-0600
TSA CORREDOR SUR 3 HIGH
LATERAL LIMITS: 361033N 0024402W, 361033N 0021433W,
362221N 0015804W, 355041N 0020607W,
355041N 0030223W, 361033N 0024402W.
VERTICAL LIMITS: FL245/FL275
DATES AND TIMES: APR 06 15-16 20 29 HR 0600-1800
APR 27 HR 1500-2359
APR 28 HR 0000-0600
TSA CORREDOR SUR 3 LOW
LATERAL LIMITS: 361033N 0024402W, 361033N 0021433W,
362221N 0015804W, 355041N 0020607W,
355041N 0030223W, 361033N 0024402W.
VERTICAL LIMITS: FL170/FL190
DATES AND TIMES: APR 06 15-16 20 29 HR 0600-1800
APR 27 HR 1500-2359
APR 28 HR 0000-0600
TSA CORREDOR SUR 4
LATERAL LIMITS: 361658N 0020533W, 363151N 0014434W,

365059N 0005929W, 363323N 0004752W,
361447N 0013118W, 355041N 0020607W,
355039N 0021206W, 361658N 0020533W.
VERTICAL LIMITS: FL170/FL190
DATES AND TIMES: APR 15-16 HR 0600-1800
TSA CORREDOR SUR 5
LATERAL LIMITS: 364753N 0010415W, 371952N 0001143E,
365804N 0001142E, 363059N 0005316W,
364753N 0010415W.
VERTICAL LIMITS: FL170/FL190
DATES AND TIMES: APR 15-16 HR 0600-1800
TSA CORREDOR SUR 6
LATERAL LIMITS: 371829N 0000614E, 380228N 0015703E,

374402N 0020706E, 365553N 0000607E,
371829N 0000614E.
VERTICAL LIMITS: FL170/FL190
DATES AND TIMES: APR 15-16 HR 0600-1800
TSA CORREDOR SUR 7
LATERAL LIMITS: 375951N 0015034E, 374128N 0020041E,
382035N 0034354E, 382256N 0034709E,
383750N 0032956E, 375951N 0015034E.
VERTICAL LIMITS: FL170/FL190
DATES AND TIMES: APR 15-16 HR 0600-1800
TSA CORREDOR SUR 8
LATERAL LIMITS: 381916N 0034003E, 383417N 0032411E,
392941N 0043931E, 390036N 0043931E,
382034N 0034352E, 381916N 0034003E.
VERTICAL LIMITS: FL170/FL190
DATES AND TIMES: APR 15-16 HR 0600-1800
F) SFC G) FL350

D1780/26
SR-SS
TEMPO SEGREGATED AREA **ACTIVATED** WI COORD:
414845N 0020840E - 415016N 0021433E - 414621N 0021510E -
414600N 0021000E - 414845N 0020840E
MOIA, BARCELONA
RMK:
COORDINATION PHONE NUMBER: +34 689 784 748.
F) 04500FT AMSL G) 05000FT AMSL

D1076/26
07-09 14-16 20-23 27-30 1300-2359
LED171B **ACTIVATED** FOR AIR OPS
RMK: THE ACTIVATION/DEACTIVATION OF THIS AREA WILL BE CARRIED OUT
IN REAL TIME BY TACTICAL COORDINATION WITH ECAO (OPERATIVE
AIR TRAFFIC SQUADRON) BARCELONA
F) SFC G) 02500FT AMSL

D1074/26
07-09 14-16 20-23 27-30 1300-2359
LED171A **ACTIVATED** FOR AIR OPS
RMK: THE ACTIVATION/DEACTIVATION OF THIS AREA WILL BE CARRIED OUT
IN REAL TIME BY TACTICAL COORDINATION WITH ECAO (OPERATIVE
AIR TRAFFIC SQUADRON) BARCELONA
F) SFC G) 02000FT AMSL

D1080/26
07-09 14-16 20-23 27-30 1300-2359
LED171D **ACTIVATED** FOR AIR OPS
RMK: THE ACTIVATION/DEACTIVATION OF THIS AREA WILL BE CARRIED OUT
IN REAL TIME BY TACTICAL COORDINATION WITH ECAO (OPERATIVE
AIR TRAFFIC SQUADRON) BARCELONA
F) SFC G) 04000FT AMSL

D1078/26
07-09 14-16 20-23 27-30 1300-2359
LED171C **ACTIVATED** FOR AIR OPS
RMK: THE ACTIVATION/DEACTIVATION OF THIS AREA WILL BE CARRIED OUT
IN REAL TIME BY TACTICAL COORDINATION WITH ECAO (OPERATIVE
AIR TRAFFIC SQUADRON) BARCELONA
F) SFC G) 03000FT AMSL

D1082/26
07-09 14-16 20-23 27-30 1300-2359
LED171E **ACTIVATED** FOR AIR OPS
RMK: THE ACTIVATION/DEACTIVATION OF THIS AREA WILL BE CARRIED OUT
IN REAL TIME BY TACTICAL COORDINATION WITH ECAO (OPERATIVE
AIR TRAFFIC SQUADRON) BARCELONA
F) SFC G) 04500FT AMSL

D1084/26
07-09 14-16 20-23 27-30 1300-2359
LED171F **ACTIVATED** FOR AIR OPS
RMK: THE ACTIVATION/DEACTIVATION OF THIS AREA WILL BE CARRIED OUT
IN REAL TIME BY TACTICAL COORDINATION WITH ECAO (OPERATIVE
AIR TRAFFIC SQUADRON) BARCELONA
F) SFC G) 06000FT AMSL

D1449/26
0800-SS
AEROBATICS WILL TAKE PLACE WI 03NM RADIUS CENTERED
ON COORD: 420121N 0002847E
AERODROMO DE BENABARRE/HUESCA
F) SFC G) 06000FT AMSL

D1369/26
01 10 17 22 24 30 0700-1300, 06-09 13-16 20-21 27-29 0700-1300 ,
1700-2200
AIR EXERCISES HPMA (HIGH PERFORMANCE MILITARY AIRCRAFT)
WI 422707N 0011212W, 415500N 0001300E, 413643N 0000803E,
413916N 0003659W, 414711N 0003817W, 415636N 0004726W,
420025N 0010712W, 422707N 0011212W
ZARAGOZA/AREA 1-2-3
RMK: IFR FLT ARR/DEP LEHC WILL NOT BE AFFECTED BY THIS ACTIVITY.
RMK: ATS ROUTES W852 AND W855 SHALL REMAIN FLIGHT PLANNABLES FOR
GENERAL AIR TRAFFIC, OPERATING UNDER TACTICAL COORDINATION
WITH TACC ZARAGOZA.
F) FL070 G) FL240

D0299/26
MON-FRI 0600-1400
TEMPORARY RESTRICTED AREA FOR PJE **ACTIVATED**
WI 01NM RADIUS OF 374514N 0012651W
MURCIA/TOTANA
RMK: THE ACTIVATION/DEACTIVATION OF THIS AREA WILL BE CARRIED OUT
IN REAL TIME BY TACTICAL COORDINATION WITH ECAO (OPERATIVE
AIR TRAFFIC SQUADRON) BARCELONA
F) SFC G) 04300FT AMSL

D1198/26
SR-SS
HANG GLIDER, PARAGLIDING, PARAMOTOR WILL TAKE PLACE WI COORD:
420938N 0000458W
421655N 0000434W
422342N 0004433W
421850N 0004506W
420938N 0000458W
HUESCA, ARAGON
F) SFC G) 05740FT AMSL

D1329/26
01-03 06-10 13-17 20-24 27-30 0400-1800
TEMPO SEGREGATED AREA LETS31 **ACTIVATED**
MOIA, BARCELONA
RMK:
COORDINATION PHONE NUMBER: +34 689 784 748.
F) SFC G) 04500FT AMSL

D1335/26
MAR 18-20 24-27 0600-2200, APR 08-10 0600-2200, MAY 05-08 19-22 ,
0600-2200, JUN 03-05 0600-2200, SEP 03-05 16-18 0600-2200, OCT
20-23 , 0600-2200, NOV 03-07 17-20 0600-2200
SAR EXERCISES WITH LIFE RAFT CHAINS AND FLARES LAUNCHING
WI 395400N 0030400E, 400600N 0031600E, 395600N 0032900E,
395100N 0030600E, 395400N 0030400E
MALLORCA/POLLENSA
RMK: THE ACTIVATION/DEACTIVATION OF THIS AREA WILL BE CARRIED OUT
IN REAL TIME BY TACTICAL COORDINATION WITH ECAO (OPERATIVE
AIR TRAFFIC SQUADRON) BARCELONA.
F) SFC G) 03500FT AMSL

R0639/26
1925-2200
SWARM 1000 UNMANNED ACFT FLYING WI COORD 414112N 0011452E -
414110N 0011502E - 414123N 0011537E - 414142N 0011454E -
414112N 0011452E
CERVERA, LERIDA.
F) SFC G) 00120M AGL

D0775/26
MAR 02-06 09-13 16-20 23-27 30-31 SR-SS, APR 01-03 06-10 13-17 ,
20-24 27-30 SR-SS, MAY 01 04-08 11-15 SR-SS
TEMPO SEGREGATED AREA **ACTIVATED** FOR UAS WI COORD:
372153N 0013921W
372152N 0013919W
373330N 0012124W
373449N 0011359W
373358N 0011039W
373303N 0011046W
373226N 0011024W
373212N 0010917W
371819N 0013514W
372153N 0013921W
MURCIA, MAZARRON.
RMK:
COORDINATION PHONE NUMBER: +34 600 338 043/ +34 674 384 394
COORDINATION MAIL: INFODRONES(AT)MARINEINSTRUMENTS.ES
F) SFC G) 00120M AGL

++++++++++++++++++++++++++++++ ROUTE ++++++++++++++++++++++++++++++

B2004/26
TRIGGER NOTAM - PERM AIRAC AIP AMDT 03/26 WEF 16-APR-26.
ENR 3.2.-
-NOTE CORRECTION IN AWY N852, N855 AND N859.
-NAVAID REFERENCE CORRECTION OF POINT RUFRU IN
AWY N852

==========
EXTENDED AREA AROUND DESTINATION ALTERNATE AIRPORT(S)
==========

LECB BARCELONA FIR/UIR

Please see section EXTENDED AREA AROUND DESTINATION

==========
AREA ENROUTE DEPARTURE - DESTINATION
==========

LFFF FRANCE FIR/UIR

++++++++++++++++++++++++++++++ FIR/UIR ++++++++++++++++++++++++++++++

F0785/26
25 29 03 06 1730-2030
RENNES FIS REDUCED TO A BARE MINIMUM ON FREQ 134.000MHZ (RENNES
SOUTHERN FIS, A AND B PARTS), 126.950MHZ (RENNES NORTHERN FIS),
134.200MHZ (RENNES FIS COTENTIN, A AND B PARTS), 120.350MHZ
(RENNES FIS COTENTIN, A AND C PARTS):
- THE ENTRY WITHIN 'RENNES' D CLASS TMA AND CTR REMAINS SUBMITTED
TO AUTHORISATION,
- IF FORCED TO ENTER WITHIN RENNES CTR AND TMA, OR DUE TO SAFETY
REASON, CONTACT INVOLVED AIRSPACE FREQ,
- IF NO INFORMATION PROVIDED FROM ANOTHER ATS AUTHORITY, DO
CONSIDER SPORTING AND RECREATIONAL ACT AS WELL AS D AND R
RESTRICTED AREAS AS **ACTIVATED**.

F0812/26

DUE TO SECURITY SITUATION IN MALI, FRENCH AIR CARRIERS AND CAPTAINS
OF AIRCRAFT IN CHARGE OF AIR SERVICES OPERATED BY CARRIERS HOLDING AN OPERATING LICENSE ISSUED BY FRANCE, WHETHER THEY ARE CONTRACTUAL
CARRIERS AND/OR OPERATING CARRIERS, OR PERFORMING AIR SERVICES THROUGH A WET LEASE OR A CODESHARE AGREEMENT AS WELL AS FOR ANY FLIGHT MADE WITH AN AIRCRAFT REGISTERED IN FRANCE ARE REQUESTED TO MAINTAIN AT ALL TIMES A FLIGHT LEVEL ABOVE OR EQUAL TO FL320 IN THE PART OF FIR DAKAR (GOOO) AND IN THE PART OF FIR NIAMEY (DRRR) LOCATED ABOVE THE MALIAN TERRITORY AND NOT TO SERVE OR IDENTIFY AS ALTERNATE BAMAKO MODIBO - KETA AERODROME (GABS)

F0805/26

FRENCH AIR CARRIERS AND CAPTAINS OF AIRCRAFT IN CHARGE OF AIR SERVICES OPERATED BY CARRIERS HOLDING AN OPERATING LICENSE ISSUED BY FRANCE, WHETHER THEY ARE CONTRACTUAL CARRIERS AND/OR OPERATING CARRIERS, OR PERFORMING AIR SERVICES THROUGH A WET LEASE OR A CODESHARE AGREEMENT AS WELL AS FOR ANY FLIGHT MADE WITH AN AIRCRAFT REGISTERED IN FRANCE ARE REQUESTED NOT TO PENETRATE INTO THE ENTIRE AIRSPACE OF JORDAN (FIR AMMAN (OJAC)

F0806/26

FRENCH AIR CARRIERS AND CAPTAINS OF AIRCRAFT IN CHARGE OF AIR SERVICES OPERATED BY CARRIERS HOLDING AN OPERATING LICENSE ISSUED BY FRANCE, WHETHER THEY ARE CONTRACTUAL CARRIERS AND/OR OPERATING CARRIERS, OR PERFORMING AIR SERVICES THROUGH A WET LEASE OR A CODESHARE AGREEMENT AS WELL AS FOR ANY FLIGHT MADE WITH AN AIRCRAFT REGISTERED IN FRANCE ARE REQUESTED NOT TO PENETRATE INTO THE AIRSPACE OF SAUDI ARABIA (FIR JEDDAH (OEJD)), EXCEPT
- FOR THE USE OF JEDDAH AERODROME (OEJN) AND TABUK AERODROME (OETB). - FOR ROUTES ON WHICH A FLIGHT LEVEL ABOVE OR EQUAL TO FL320 IS
REQUESTED TO BE MAINTAIN AT ALL TIMES AND ARE LOCATED WEST OF THE SEGMENTS DEFINED BY THE FOLLOWING REPORTING POINTS, RESPECTING THE SEQUENCE BELOW :
OBSOT 295451N373455E
DANOM 225454N450509E
KEDON 202516N555850E
- FOR THE USE OF YENBO AERODROME (OEYN) AND TAIF AERODROME (OETF) AS ALTERNATE ONLY.
THE AIR OPERATOR MUST CARRY OUT A ROBUST RISK ASSESSMENT TO ENSURE THAT THE FLIGHT CAN BE CONDUCTED UNDER SATISFACTORY SAFETY AND SECURITY CONDITIONS BEFORE ENTERING THIS AREA AND BEFORE OPERATING FLIGHTS TO JEDDAH AIRPORT (OEJN).
THIS NOTAM SUPERSEDES THE RESTRICTIONS CONCERNING SAUDI ARABIA AIRSPACE (FIR JEDDAH (OEJD)) ISSUED IN PARAGRAPH 3.13 SAUDI ARABIA OF THE AIC NR 02/26 CURRENTLY IN EFFECT

F0803/26

FRENCH AIR CARRIERS AND CAPTAINS OF AIRCRAFT IN CHARGE OF AIR SERVICES OPERATED BY CARRIERS HOLDING AN OPERATING LICENSE ISSUED BY FRANCE, WHETHER THEY ARE CONTRACTUAL CARRIERS AND/OR OPERATING CARRIERS, OR PERFORMING AIR SERVICES THROUGH A WET LEASE OR A CODESHARE AGREEMENT AS WELL AS FOR ANY FLIGHT MADE WITH AN AIRCRAFT REGISTERED IN FRANCE ARE REQUESTED NOT TO PENETRATE INTO THE ENTIRE AIRSPACE OF QATAR (FIR DOHA (OTDF)).

F0804/26
FRENCH AIR CARRIERS AND CAPTAINS OF AIRCRAFT IN CHARGE OF AIR SERVICES OPERATED BY CARRIERS HOLDING AN OPERATING LICENSE ISSUED BY FRANCE, WHETHER THEY ARE CONTRACTUAL CARRIERS AND/OR OPERATING CARRIERS, OR PERFORMING AIR SERVICES THROUGH A WET LEASE OR A CODESHARE AGREEMENT AS WELL AS FOR ANY FLIGHT MADE WITH AN AIRCRAFT REGISTERED IN FRANCE ARE REQUESTED NOT TO PENETRATE INTO THE ENTIRE AIRSPACE OF BAHRAIN (FIR BAHRAIN (OBBB)

F0800/26
FRENCH AIR CARRIERS AND CAPTAINS OF AIRCRAFT IN CHARGE OF AIR SERVICES OPERATED BY CARRIERS HOLDING AN OPERATING LICENSE ISSUED BY FRANCE, WHETHER THEY ARE CONTRACTUAL CARRIERS AND/OR OPERATING CARRIERS, OR PERFORMING AIR SERVICES THROUGH A WET LEASE OR A CODESHARE AGREEMENT AS WELL AS FOR ANY FLIGHT MADE WITH AN AIRCRAFT REGISTERED IN FRANCE ARE REQUESTED NOT TO PENETRATE INTO THE ENTIRE AIRSPACE OF UNITED ARAB EMIRATES (FIR EMIRATES (OMAE)).

F0801/26
FRENCH AIR CARRIERS AND CAPTAINS OF AIRCRAFT IN CHARGE OF AIR SERVICES OPERATED BY CARRIERS HOLDING AN OPERATING LICENSE ISSUED BY FRANCE, WHETHER THEY ARE CONTRACTUAL CARRIERS AND/OR OPERATING CARRIERS, OR PERFORMING AIR SERVICES THROUGH A WET LEASE OR A CODESHARE AGREEMENT AS WELL AS FOR ANY FLIGHT MADE WITH AN AIRCRAFT REGISTERED IN FRANCE ARE REQUESTED NOT TO PENETRATE INTO THE ENTIRE AIRSPACE OF LEBANON (FIR BEIRUT (OLBB)).

F0799/26
FRENCH AIR CARRIERS AND CAPTAINS OF AIRCRAFT IN CHARGE OF AIR SERVICES OPERATED BY CARRIERS HOLDING AN OPERATING LICENSE ISSUED BY FRANCE, WHETHER THEY ARE CONTRACTUAL CARRIERS AND/OR OPERATING CARRIERS, OR PERFORMING AIR SERVICES THROUGH A WET LEASE OR A CODESHARE AGREEMENT AS WELL AS FOR ANY FLIGHT MADE WITH AN AIRCRAFT REGISTERED IN FRANCE ARE REQUESTED NOT TO PENETRATE INTO THE ENTIRE AIRSPACE OF IRAQ (FIR BAGHDAD (ORBB)).
THIS NOTAM SUPERSEDES THE RESTRICTIONS CONCERNING IRAQ AIRSPACE (FIR BAGHDAD (ORBB)) ISSUED IN PARAGRAPH 3.2 IRAQ OF THE AIC NR 02/26
CURRENTLY IN EFFECT.

F0802/26
FRENCH AIR CARRIERS AND CAPTAINS OF AIRCRAFT IN CHARGE OF AIR SERVICES OPERATED BY CARRIERS HOLDING AN OPERATING LICENSE ISSUED BY FRANCE, WHETHER THEY ARE CONTRACTUAL CARRIERS AND/OR OPERATING CARRIERS, OR PERFORMING AIR SERVICES THROUGH A WET LEASE OR A CODESHARE AGREEMENT AS WELL AS FOR ANY FLIGHT MADE WITH AN AIRCRAFT REGISTERED IN FRANCE ARE REQUESTED NOT TO PENETRATE INTO THE ENTIRE AIRSPACE OF KUWAIT (FIR KUWAIT (OKAC)

F0798/26
FRENCH AIR CARRIERS AND CAPTAINS OF AIRCRAFT IN CHARGE OF AIR SERVICES OPERATED BY CARRIERS HOLDING AN OPERATING LICENSE ISSUED BY FRANCE, WHETHER THEY ARE CONTRACTUAL CARRIERS AND/OR OPERATING CARRIERS, OR PERFORMING AIR SERVICES THROUGH A WET LEASE OR A CODESHARE AGREEMENT AS WELL AS FOR ANY FLIGHT MADE WITH AN AIRCRAFT REGISTERED IN FRANCE ARE REQUESTED NOT TO PENETRATE INTO THE ENTIRE AIRSPACE OF IRAN (FIR TEHRAN (OIIX)).
THIS NOTAM SUPERSEDES THE RESTRICTIONS CONCERNING IRAN AIRSPACE (FIR TEHRAN (OIIX)) ISSUED IN PARAGRAPH 3.14 IRAN OF THE AIC NR 02/26
CURRENTLY IN EFFECT.

F0797/26
FRENCH AIR CARRIERS AND CAPTAINS OF AIRCRAFT IN CHARGE OF AIR SERVICES OPERATED BY CARRIERS HOLDING AN OPERATING LICENSE ISSUED BY FRANCE, WHETHER THEY ARE CONTRACTUAL CARRIERS AND/OR OPERATING CARRIERS, OR PERFORMING AIR SERVICES THROUGH A WET LEASE OR A CODESHARE AGREEMENT AS WELL AS FOR ANY FLIGHT MADE WITH AN AIRCRAFT REGISTERED IN FRANCE ARE REQUESTED NOT TO PENETRATE INTO THE
AIRSPACE OF OMAN (FIR MUSCAT (OOMM)), EXCEPT :
- MAINTAINING ALL TIMES A FLIGHT LEVEL ABOVE OR EQUAL TO FL320, FOR ROUTES LOCATED SOUTH OF THE SEGMENTS DEFINED BY THE FOLLOWING REPORTING POINTS, RESPECTING THE SEQUENCE BELOW :
DANOM 225454N450509E
KEDON 202516N555850E
VELOD 234617N573430E
THE AIR OPERATOR MUST CARRY OUT A ROBUST RISK ASSESSMENT TO ENSURE THAT THE FLIGHT CAN BE CONDUCTED UNDER SATISFACTORY SAFETY AND SECURITY CONDITIONS BEFORE ENTERING THIS AREA.

F0777/26
24 1230-1600, 27-30 1530-0600, 05 0400-1100
'SAINT DIZIER' CTR AND 'SAINT DIZIER' TMA DEACTIVATED : ATC SERVICES NOT PROVIDED.

F0491/26
TRIGGER NOTAM - PERM AIRAC AIP AMDT 04/26 WEF 16 APR 2026.
MODIFICATION CTR ETAIN

F0492/26
TRIGGER NOTAM - PERM AIRAC AIP AMDT 04/26 WEF 16 APR 2026.
MODIFICATION TMA NANCY

F0495/26
TRIGGER NOTAM - PERM AIRAC AIP AMDT 04/26 WEF 16 APR 2026. SETTING UP OF DAY VFR TRANSIT ITINERARIES OVER 'PARC NATIONAL DE FORET'.

F0498/26
TRIGGER NOTAM - PERM AIRAC AIP AMDT 04/26 WEF 16 APR 2026.
CREATION OF SEINE TMZ

F0508/26
TRIGGER NOTAM - PERM AIRAC AIP AMDT 04/26 WEF 16 APR 2026.
LTA 1 FRANCE MODIFIED

F0507/26
TRIGGER NOTAM - PERM AIRAC AIP AMDT 04/26 WEF 16 APR 2026.
LTA 2 FRANCE **WITHDRAWN**

F0509/26
TRIGGER NOTAM - PERM AIRAC AIP AMDT 04/26 WEF 16 APR 2026. SETTING UP OF PARIS S CTA

F0510/26
TRIGGER NOTAM - PERM AIRAC AIP AMDT 04/26 WEF 16 APR 2026. SETTING UP OF PARIS N CTA

F0511/26
TRIGGER NOTAM - PERM AIRAC AIP AMDT 04/26 WEF 16 APR 2026. SETTING UP OF PARIS H CTA

F0518/26
TRIGGER NOTAM - PERM AIRAC AIP AMDT 04/26 WEF 16 APR 2026.
SECTOR S PARIS ACC : FREQ MODIFICATION

F0519/26
TRIGGER NOTAM - PERM AIRAC AIP AMDT 04/26 WEF 16 APR 2026.
SECTOR UJ PARIS UAC : FREQ MODIFICATION

F0638/26
'SAINT-YAN' CTR AND TMA ATS HOURS OF OPS :
MON-FRI EXC MAY 01 08 25 : 0600-2100
OUTSIDE THESE HOURS, UPON 72HR PPR TO **AD** ADMINISTRATION

F0598/26
'ZS' SECTOR FREQ MODIFIED, READ 135.965MHZ
REF GEN 3.4-7 - UAC BREST

F0564/26
TMA SEINE HOURS OF OPS : 0500-2000

F0581/26
FRENCH AIR CARRIERS AND CAPTAINS OF AIRCRAFT IN CHARGE OF AIR SERVICES OPERATED BY CARRIERS HOLDING AN OPERATING LICENSE ISSUED BY FRANCE, WHETHER THEY ARE CONTRACTUAL CARRIERS AND/OR OPERATING CARRIERS, OR PERFORMING AIR SERVICES THROUGH A WET LEASE OR A CODESHARE AGREEMENT AS WELL AS FOR ANY FLIGHT MADE WITH AN AIRCRAFT REGISTERED IN FRANCE ARE REQUESTED NOT TO PENETRATE INTO THE AIRSPACE OF LIBYA (FIR TRIPOLI (HLLL)) EXCEPT OF THE TWO-WAY ROUTES SEGMENTS M999 (ZARZAITINE SEBHA) AND G655 (SEBHA GARIN), ON WHICH A FLIGHT LEVEL ABOVE OR EQUAL TO FL320 IS REQUESTED TO BE MAINTAINED AT ALL TIMES.
THE AIR OPERATOR MUST CARRY OUT A ROBUST RISK ASSESSMENT TO ENSURE THAT THE FLIGHT CAN BE CONDUCTED UNDER SATISFACTORY SAFETY AND SECURITY CONDITIONS BEFORE ENTERING IN LYBIAN AIRSPACE.
THIS NOTAM SUPERSEDES THE RESTRICTIONS CONCERNING LYBIA AIRSPACE (FIR TRIPOLI (HLLL)) ISSUED IN PARAGRAPH 3.3 LYBIA OF THE AIC NR 02/26 CURRENTLY IN EFFECT.

F0321/26
RUSSIA AND BELARUS RESTRICTIONS :
1- ALL AIRCRAFT REGISTERED IN RUSSIA OR OPERATED BY RUSSIAN AIR CARRIERS, INCLUDING AS A MARKETING CARRIER IN CODE-SHARING OR BLOCKED-SPACE ARRANGEMENTS OR OWNED, CHARTERED OR OPERATED BY A RUSSIAN NATURAL OR LEGAL PERSON, ENTITY OR BODY ARE PROHIBITED TO LAND IN, TAKE OFF FROM OR OVERFLY THE FRENCH SOVEREIGN AIRSPACE EXCEPT IN CASE OF EMERGENCY LANDING OR EMERGENCY OVERFLIGHT AND EXCEPT FOR FLIGHTS HOLDING A PERMISSION DELIVERED IN ACCORDANCE WITH THE APPROPRIATE EU REGULATION BY THE FRENCH AUTHORITIES
2- ALL AIRCRAFT OPERATED BY BELARUSIAN AIR CARRIERS, INCLUDING AS A MARKETING CARRIER IN CODE-SHARING OR BLOCKED-SPACE ARRANGEMENTS, ARE PROHIBITED TO LAND IN, TAKE OFF FROM OR OVERFLY THE FRENCH SOVEREIGN AIRSPACE
EXCEPT IN CASE OF EMERGENCY LANDING OR EMERGENCY OVERFLIGHT AND EXCEPT FOR FLIGHTS HOLDING A PERMISSION DELIVERED IN ACCORDANCE WITH THE APPROPRIATE EU REGULATION BY THE FRENCH AUTHORITIES
3- IT SHALL BE PROHIBITED TO PARTICIPATE, KNOWINGLY AND INTENTIONALLY, IN ACTIVITIES THE OBJECT OR EFFECT OF WHICH IS TO CIRCUMVENT THESE PROHIBITIONS.

P0645/26
MODIFICATION COORDONNEES TOUR 53014 A PRE-EN-PAIL-ST-SAMSON
RDL 271/10.33NM ARP LFOF ALENCON-VALFRAMBERT
PSN: 482657N 0000903.49W
HAUT: 201FT
ALT AU SOMMET: 1546FT
BALISAGE: NIL
REF AIP FRANCE DATASET ENR 5.4

F1774/25
VFR PROHIBITED ABOVE FL115 WITHIN SECTORS CONTROLLED BY PARIS CTL EXC FOR SPECIAL ACT AUTHORIZED BY PARIS CTL.

F1665/25
EUROCONTROL LOGON LIST FUNCTIONALITY SET UP FOR THE EN-ROUTE CENTRES OF BORDEAUX ACC, BREST ACC, MARSEILLE ACC, PARIS ACC AND REIMS ACC.
ONLY AIRCRAFT VALIDATED BY EUROCONTROL IN THE LOGON LIST CAN CONNECT TO THE CPDLC SERVICES OF THESE ACC.

F1418/25
DUE TO A TECHNICAL UPDATE,SOME PHONE NUMBERS OF THE
'CINQ-MARS-LA-PILE' CTL AND DETECTION CENTER '(CDC)' ARE CHANGING.
ONLY THE FLW PHONE NUMBERS HAVE TO BE USED :
'CSCAM': +33 2.45.34.16.02 (862 927 1602)
'BIV': +33 2.45.34.16.03 (862 927 1603)
'MC': +33 2.45.34.16.05 (862 927 1605) AND +33 2.45.34.16.06 (862 927 1606)
'TPO': +33 2.45.34.16.09 (862 927 1609)
'OMC': +33 2.45.34.16.10 (862 927 1610)
'FA': +33 2.45.34.16.11 (862 927 1611)
'OPS MANAGER' : +33 2.45.34.14.00 (862 927 1400)
'CDC CINQ MARS LA PILE POC' : +33 2 45 34 28 63

H0214/25
CREATION OF 'HELISTATION AIR TOURAINE'
AT NEUVY LE ROY
PSN : 473450N 0003618E
ALTITUDE : 310FT
AXIS : 070/250
FATO = TLOF (3.6T) : 20 X 20M
LGT : NIL
REF **AD** 1.3

F0627/25
APPLICATION OF THE NEW EUROPEAN REGULATION IR SERA 2024/404 IN FORCE
ON MAY 1ST, 2025 WITH THE INTRODUCTION OF POINT SERA.14083
RELATING TO PROCEDURES IN CASE OF RADIO COMMUNICATION FAILURE.
MODIFICATION OF RADIO FAILURE PROCEDURE : INTRODUCTION OF THE NEW EMERGENCY CODE 7601 AND MODIFICATION OF THE 7-MINUTE RULE TO 20 MINUTES.
REF AIP ENR1.1

++++++++++++++++++++++++++++ WAYPOINT ++++++++++++++++++++++++++++

F0652/26
VOR BNE 113.800MHZ **U/S**.

F0244/26
FRANCE FREE ROUTE AIRSPACE - NORTH EAST CELL (LFFRANE) -
SIGNIFICANT POINT BELOW FRA FUNCTION MODIFIED.
READ :
-ENORI=FRA(AI): LFFRANE, LFPG, FL195-660
-REF AIP ENR 4.4

F1805/25
FRANCE FREE ROUTE AIRSPACE - NORTH EAST CELL (LFFRANE) -
SIGNIFICANT POINT BELOW FRA FUNCTIONS MODIFIED.
READ :
- OKRIX= FRA(ID) : LFFRANE, LFLA, LFOK, LFQB, LFQA, LFSI, LFOA, LFQG, LFLD, LFOJ, LFOZ, LFLC, LFLV, FL195-660
- REF AIP ENR 4.4

++++++++++++++++++++++ RESTRICTED AIRSPACE ++++++++++++++++++++++++

R1255/26
AIP SUP 059/26 ACT :
FLW ZRT ACT :
ZRT YONNE : 0000-2359
ZRT ARMANCON ALPHA : 0000-2359
ZRT SEINE : 0000-2359
ZRT AUBE ALPHA : 0000-2359
ZRT MARNE ALPHA : 0000-2359
ZRT ORNAIN ALPHA: 0000-2359
ZRT SUIPPES ALPHA : 0000-2359
ZRT SOUCHE : 0000-2359
ZRT AISNE ALPHA : 0000-2359
F) SFC G) 5500FT AMSL
R0974/26
RESTRICTED AREA LF-R114C 'SISSONNE' **ACTIVATED**.
F) 2200FT AMSL G) FL085
R1006/26
TRIGGER NOTAM - AIP SUP 059/26
CREATION OF 15 TEMPORARY RESTRICTED AREAS ('ZRT') FOR 'ORION 26/O42' EXERCISE.
THE 'ZRT' ARE ACT BY NOTAM WITH 48HR PRIOR NOTICE.
THIS AIP SUP IS **AVBL** AT WWW.SIA.AVIATION-CIVILE.GOUV.FR
F) SFC G) FL195
R1190/26
MISSING AREAS ON 1:500,000 MAP :
ADD THE FOLLOWING AREAS : LF-CBA16B, EU-C25SL, EU-C25SLZ, EU-C25SLP, EU-C25SLPZ ET EU-CBAC25FW.
REFERENCE AIP FRANCE 5.2-17 AND 22.
F) FL065 G) FL115
R1065/26
TRIGGER NOTAM - AIP SUP 067/26 :
CREATION OF 2 TEMPORARY RESTRICTED AREAS ('ZRT') FOR UNMANNED ACFT FLYING OUT OF SIGHT IN THE SOUTH OF PARIS.
ACTIVATION OF THE ZRT BY NOTAM.
THIS AIP SUP IS **AVBL** AT WWW.SIA.AVIATION-CIVILE.GOUV.FR
F) SFC G) 500FT AGL
R0856/26
TRIGGER NOTAM - PERM AIRAC AIP AMDT 04/26 WEF 16 APR 2026.
CREATION OF ZONE LF-R205/11
F) FL115 G) FL195
R0884/26
TRIGGER NOTAM - PERM AIRAC AIP AMDT 04/26 WEF 16 APR 2026. SETTING UP OF 'LA SEINE CHAMPENOISE NR730' NATURE RESERVE
F) SFC G) 1000FT AGL
R0893/26
TRIGGER NOTAM - PERM AIRAC AIP AMDT 04/26 WEF 16 APR 2026.
CREATION OF 'LE MANS LES CROISETTES' NR955 DETENTION CENTRE OVERFLIGHT PROHIBITION
F) SFC G) 3300FT AGL
R0896/26
TRIGGER NOTAM - PERM AIRAC AIP AMDT 04/26 WEF 16 APR 2026.
CREATION OF 'BAPAUME' DETENTION CENTRE NR965 OVERFLIGHT PROHIBITION F) SFC G) 3300FT AGL
R0897/26
TRIGGER NOTAM - PERM AIRAC AIP AMDT 04/26 WEF 16 APR 2026.
WITHDRAWAL OF 'CLAIRVAUX' DETENTION CENTRE NR660 OVERFLIGHT PROHIBITION
F) SFC G) 3300FT AGL

R0901/26
TRIGGER NOTAM - PERM AIRAC AIP AMDT 04/26 WEF 16 APR 2026.
'PARC NATIONAL DES FORETS' NATIONAL PARK NR021 MODIFIED
F) SFC G) 3300FT AGL
W0312/26
TRIGGER NOTAM - PERM AIRAC AIP AMDT 04/26 WEF 16 APR 2026.
CREATION OF MODEL FLYING ACT 9979 DAMMARTIN EN SERVE
F) GND G) 1400FT AMSL
W0317/26
TRIGGER NOTAM - PERM AIRAC AIP AMDT 04/26 WEF 16 APR 2026.
WITHDRAWAL OF MODEL FLYING 8202 SAINT SIMON
F) GND G) 1800FT AMSL
W0319/26
TRIGGER NOTAM - PERM AIRAC AIP AMDT 04/26 WEF 16 APR 2026.
WITHDRAWAL OF MODEL FLYING 8537 VILLENEUVE LE ROI
F) GND G) 50FT AGL
W0326/26
TRIGGER NOTAM - PERM AIRAC AIP AMDT 04/26 WEF 16 APR 2026.
MODIFICATION OF MODEL FLYING ACT 8274 SANDILLON
F) GND G) 500FT AGL
W0332/26
TRIGGER NOTAM - PERM AIRAC AIP AMDT 04/26 WEF 16 APR 2026.
WITHDRAWAL OF MODEL FLYING ACT 8212
F) GND G) 1300FT AMSL
W0333/26
TRIGGER NOTAM - PERM AIRAC AIP AMDT 04/26 WEF 16 APR 2026.
WITHDRAWAL OF MODEL FLYING ACT 8542 VONCQ
F) GND G) 800FT AMSL
W0334/26
TRIGGER NOTAM - PERM AIRAC AIP AMDT 04/26 WEF 16 APR 2026.
MODIFICATION OF MODEL FLYING ACT 8700 LAMOTTE BEUVRON
F) GND G) 1400FT AMSL
W0339/26
TRIGGER NOTAM - PERM AIRAC AIP AMDT 04/26 WEF 16 APR 2026.
CREATION OF MODEL FLYING ACT 9978 BARZY SUR MARNE
F) GND G) 400FT AGL
W0347/26
TRIGGER NOTAM - PERM AIRAC AIP AMDT 04/26 WEF 16 APR 2026.
MODIFICATION OF MODEL FLYING ACT 8240
F) GND G) 500FT AGL
W0350/26
TRIGGER NOTAM - PERM AIRAC AIP AMDT 04/26 WEF 16 APR 2026.
CREATION OF MODEL FLYING ACT 9981 AUBIGNY SUR NERE
F) SFC G) 330FT AGL
W0354/26
TRIGGER NOTAM - PERM AIRAC AIP AMDT 04/26 WEF 16 APR 2026.
CREATION OF MODEL FLYING ACT 9982 ELETOT
F) SFC G) 200FT AGL
R1000/26
TRIGGER NOTAM - AIP SUP 053/26 :
CREATION OF 95 TEMPORARY RESTRICTED AREAS ('ZRT') AND OF 4
TEMPORARY DANGEROUS AREAS ('ZDT') AT MEDIUM AND HIGH ALTITUDE FOR
THE TRANSIT AND EVOLUTION OF STATE DRONES IN THE NORTH OF FRANCE.
THE 'ZRT' ARE ACTIVABLE BY NOTAM WITH 0600 NOTICE WHEN **ACTIVATED**
FOR SECURITY REASONS AND AT D-1 BEFORE 1100 (SUM -1HR) FOR
EXERCISE OR TRAINING PURPOSES.
THIS AIP SUP IS **AVBL** AT WWW.SIA.AVIATION-CIVILE.GOUV.FR
F) FL125 G) FL215

W0522/26
SPECIFIC ACTIVITY NR 51-001 'BETHENY' (51) MODIFIED :
-HOURS OF OPS : H24
-PSN : 491813N 0040156E.
F) SFC G) 800FT AMSL

W0540/26
MON TUE THU FRI 1530-SS, WED 1230-SS, SAT SUN SR-SS
AEROBATICS OVER 'MARVILLE PRIVATE AD' (55) - RDL255/6.3NM LFGS
ARP :
-AXIS 120/300 LENGTH 1000M CENTRED ON PSN : 492727N 0052454E
-HOURS OF ACTIVITY OUT OF LF-R45N3 ACTIVATION
-USERS INFO :
.PARIS INFO 125.700MHZ
.ETAIN APP 120.125MHZ.
F) 1500FT AGL G) 5000FT AMSL

R1081/26
TRIGGER NOTAM - AIP SUP 215/25 MODIFIED :
CREATION OF 14 TEMPORARY RESTRICTED AREAS (ZRT) AND 4 TEMPORARY
DANGER AREAS (ZDT) FOR UNMANNED AIRCRAFT FLYING OUT OF SIGHT OVER
THE EASTERN CHANNEL AND THE ENGLISH CHANNEL STRAIT.

--- -
THE PROVISIONS INCLUDED IN THIS AIP SUP ARE IN FORCE TIL MAY 13
2359.

--- -
THIS AIP SUP IS **AVBL** AT WWW.SIA.AVIATION-CIVILE.GOUV.FR
F) SFC G) 1500FT AMSL

R0982/26
07-10 13-17 20-24 27-30 SR-SS
LF-R602 ABLIS ACT:
INFO: PARIS INFO 126.100MHZ 129.625MHZ
F) SFC G) 2500FT AMSL

R0835/26
TRIGGER NOTAM - AIP SUP 050/26 :
CREATION OF A TEMPORARY RESTRICTED AREA (ZRT SAINT HILAIRE) IN THE
SOUTH OF ORLEANS FOR UNMANNED ACFT OPERATIONS.
THIS AIP SUP IS **AVBL** AT WWW.SIA.AVIATION-CIVILE.GOUV.FR
F) SFC G) 1600FT AMSL

R0693/26
TUE-THU SR-1300
TEMPORARY RESTRICTED AREA (ZRT) OVER 'DREUX SENONCHES' AIR BASE :
UNMANNED ACFT FLIGHTS
1- LATERAL LIMITS :
CIRCLE OF 1NM RADIUS CENTRED ON PSN 483842N 0010559E
2- STATUS :
TEMPO RESTRICTED AREA (ZRT), WHEN ACT, REPLACES THE OVERLAPPING PARTS OF AIRSPACE.
3- PROVIDED SERVICES :
FLIGHT INFORMATION AND ALERT PROVIDED BY 'SEINE INFO' OR 'PARIS CTL' OR 'LILLE INFO'.
4- ENTRY CONDITIONS GAT/OAT :
COMPULSORY AREA AVOIDANCE EXC :
. UNMANNED ACFT INVOLVED IN OPERATIONS
. ACFT CARRYING OUT MIL, CUSTOMS, POLICE, SEARCH AND RESCUE, FIRE FIGHTING, MEDICAL TRANSPORT OPERATIONS, WHEN FORCED TO ENTER THE AREA, AFTER PRIOR CONTACT TO MANAGER - PHONE : +33 7 64 86 92 53
-5 ACTUAL ACTIVITY KNOWN FROM :
LILLE INFO 134.825MHZ
SEINE INFO 127.815MHZ (DURING 'SEINE' ATS SKED)
-6 SPECIAL PROVISIONS :
AEROBATICS NR 6206 'DREUX SENONCHES' **SUSPENDED** WHEN ZRT ACT.
F) SFC G) 2600FT AMSL

R0751/26
TRIGGER NOTAM - AIP SUP 044/26 :
CREATION OF A TEMPORARY RESTRICTED AREAS ('ZRT MONTCEAU-LES-MINES-LA GUICHE') FOR UNMANNED ACFT OUT OF SIGHT DAYTIME FLIGHTS IN 'SAONE ET LOIRE'.
THIS AIP SUP IS **AVBL** AT WWW.SIA.AVIATION-CIVILE.GOUV.FR
F) SFC G) 330FT AGL

R0936/26
TRIGGER NOTAM - AIP SUP 094/25 :
PARACHUTING WITH CANOPY DRIFTING IN THE ROMORANTIN AREA REQUIRING THE CREATION OF 4 TEMPORARY RESTRICTED AREAS.
ACTIVITY FORECAST BY NOTAM WITH PPR 48HR.
THIS AIP SUP IS **AVBL** AT WWW.SIA.AVIATION-CIVILE.GOUV.FR
F) SFC G) FL285

R0446/26
TRIGGER NOTAM - AIRAC AIP SUP 023/26 :
CREATION OF TWO TEMPORARY RESERVED AREAS (TRA) IN UIR, TRA90NL AND TRA90NH, AND ASSOCIATED FBZ.
THIS AIP SUP IS **AVBL** AT WWW.SIA.AVIATION-CIVILE.GOUV.FR
F) FL195 G) FL335

R0564/26

TEMPORARY RESTRICTED AREA (ZRT) 'ZRT SOMME 2' :
-DESCRIPTION :
-UNMANNED ACFT FLIGHTS, BEYOND VISUAL LINE OF SIGHT,
-ZRT MAY BE **ACTIVATED** H24 WITH A 24HR PN,
-ZRT CENTRE : RDL302/8.5NM LFOI ARP
1-LATERAL LIMITS :
501654N 0013537E
501457N 0014121E
501012N 0014150E
501040N 0013207E
501654N 0013537E
2-VERTICAL LIMITS :
SR-30 / SS+30 : 500FT ASFC
SS+30 / SR-30 : 1500FT AMSL
3-STATUS :
TEMPORARY RESTRICTED AREA (ZRT) REPLACES THE OVERLAPPING AIRSPACE PARTS, EXCEPT RESTRICTED AREA LF-R400D 'DEP HOURDEL'.
4-SERVICES PROVIDED :
FLIGHT INFORMATION AND ALERT ARE PROVIDED BY 'LILLE INFO'.
5-OAT/GAT ENTRY CONDITIONS :
COMPULSORY AREA AVOIDANCE DURING ZRT ACTIVITY EXCEPT FOR :
-ACFT INVOLVED IN THE EXERCISE,
-AERIAL-WORK COMPANIES ACFT WITH A SPECIAL PERMISSION FROM FLIGHT HEIGHT RESTRICTIONS FOR ESSENTIAL OPERATIONS AFTER COORDINATION WITH THE RELEVANT AUTHORITY,
-ACFT ON MIL, CUSTOMS, POLICE, SEARCH AND RESCUE, FIREFIGHTING, MEDICAL TRANSPORT OPERATIONS WHEN FORCED TO ENTER THE AREA AFTER COORDINATION WITH THE RELEVANT AUTHORITY.
6-RELEVANT AUTHORITY :
-'COMFAG'
-PHONE : +33 630 089 289
: +33 145 373 137 / +33 145 373 139
7-INFO :
ACTUAL TIMES OF ACTIVITY ANNOUNCED ON 'LILLE INFO' 132.540MHZ
F) SFC G) 1500FT AMSL

R0566/26
TEMPORARY RESTRICTED AREA (ZRT) 'ZRT SOMME 1' :
-DESCRIPTION :
-UNMANNED ACFT FLIGHTS, BEYOND VISUAL LINE OF SIGHT,
-ZRT MAY BE **ACTIVATED** H24 WITH A 24HR PN,
-ZRT CENTRE : RDL195/17NM LFAT ARP
1-LATERAL LIMITS :
500803N 0012616E
502318N 0013347E
502136N 0013816E
500736N 0013008E
500803N 0012616E
2-VERTICAL LIMITS :
SR-30 / SS+30 : SFC / 500FT ASFC
SS+30 / SR-30 : SFC / 1500FT AMSL
3-STATUS :
TEMPORARY RESTRICTED AREA (ZRT) REPLACES THE OVERLAPPING AIRSPACE PARTS, EXCEPT RESTRICTED AREAS LF-R400E 'DEP AULT' AND LF-R400D 'DEP HOURDEL' (SUP AIP 215/25).
4-SERVICES PROVIDED :
FLIGHT INFORMATION AND ALERT ARE PROVIDED BY 'LILLE INFO'.
5-OAT/GAT ENTRY CONDITIONS :
COMPULSORY AREA AVOIDANCE DURING ZRT ACTIVITY EXCEPT FOR :
-ACFT INVOLVED IN THE EXERCISE,
-AERIAL-WORK COMPANIES ACFT WITH A SPECIAL PERMISSION FROM FLIGHT HEIGHT RESTRICTIONS FOR ESSENTIAL OPERATIONS AFTER COORDINATION WITH THE RELEVANT AUTHORITY
-ACFT ON MIL, CUSTOMS, POLICE, SEARCH AND RESCUE, FIREFIGHTING, MEDICAL TRANSPORT OPERATIONS WHEN FORCED TO ENTER THE AREA AFTER COORDINATION WITH THE RELEVANT AUTHORITY.
6-RELEVANT AUTHORITY :
-'COMFAG'
-PHONE : +33 630 089 289
PHONE : +33 145 373 137 / +33 145 373 139
7-INFO :
ACTUAL TIMES OF ACTIVITY ANNOUNCED ON 'LILLE INFO' 132.540MHZ
F) SFC G) 1500FT AMSL

R0441/26
TRIGGER NOTAM - AIP SUP 018/26 :
CREATION OF A TEMPORARY RESTRICTED 'ZRT DRONE COURTALAIN' DUE TO OUT OF SIGHT UNMANNED ACFT FLIGHTS IN 'CENTRE' REGION ACTIVABLE BY NOTAM WITH 48HR NOTICE.
THIS AIP SUP IS **AVBL** AT WWW.SIA.AVIATION-CIVILE.GOUV.FR
F) SFC G) 500FT AGL

R0445/26
TRIGGER NOTAM - AIP SUP 022/26 :
CREATION OF A TEMPORARY RESTRICTED AREA 'ZRT CUIRASSIER' IN THE ORLEANS BRICY REGION.
THE ZRT CAN BE **ACTIVATED** BY NOTAM WITH NOTICE OF 48HR.
THIS AIP SUP IS **AVBL** AT WWW.SIA.AVIATION-CIVILE.GOUV.FR
F) SFC G) 2100FT AMSL

R0444/26
TRIGGER NOTAM - AIP SUP 021/26 :
CREATION OF A TEMPORARY RESTRICTED AREA 'ZRT ARGENTAN' FOR UNMANNED AIRCRAFTS SURVEYS, OPERATING OUT OF SIGHT, IN THE ARGENTAN AREA (A88 FREEWAY).
ZRT ACTIVABLE BY NOTAM WITH 10 DAYS NOTICE.
THIS AIP SUP IS **AVBL** AT WWW.SIA.AVIATION-CIVILE.GOUV.FR
F) SFC G) 400FT AGL

R0034/26
NO-FLY ZONE NR660 'CLAIRVAUX' DETENTION CENTRE **WITHDRAWN**
PSN : 480900N 0044700E
F) SFC G) 3300FT AGL

W2675/25
MODEL FLYING ACTIVITY N8071 SAINT FLORENTIN CHEU AERODROME
WITHDRAWN
PSN: 475920N 0034605E
REF AIP FRANCE ENR 5.5
F) SFC G) 500FT AGL

W2676/25
MODEL FLYING ACTIVITY N8212 SOUCY (89) **WITHDRAWN**
PSN: 481421N 0031725E
REF AIP FRANCE ENR 5.5
F) SFC G) 1300FT AMSL

W2677/25
MODEL FLYING ACTIVITY N8542 VONCQ (08) **WITHDRAWN**
PSN: 492739N 0044003E
REF AIP FRANCE ENR 5.5
F) SFC G) 800FT AMSL

R3164/25
TRIGGER NOTAM - AIP SUP 212/25 :
CREATION OF A TEMPORARY RESTRICTED AREA (ZRT HIRSON) FOR DAY AND NIGHT OUT-OF-SIGHT UNMANNED FLIGHTS, IN THE HAUTS DE FRANCE AREA.
THIS AIP SUP IS **AVBL** AT WWW.SIA.AVIATION-CIVILE.GOUV.FR
F) SFC G) 400FT AGL

R3166/25
TRIGGER NOTAM - AIP SUP 214/25 :
DAILY AND NIGHTLY OUT OF SIGHT UNMANNED ACFT FLIGHTS IN THE 'HAUTS DE FRANCE' AREA REQUIRING THE CREATION OF A TEMPORARY RESTRICTED AREA ('ZRT AIRGHT').
THIS AIP SUP IS **AVBL** AT WWW.SIA.AVIATION-CIVILE.GOUV.FR
F) SFC G) 400FT AGL

W2579/25
MODEL FLYING ACTIVITY AT 'DAMMARTIN-EN-SERVE' (78)
- RDL 194/10.1NM ARP LFFC
- RDL 291/11.9NM ARP LFPF
- PSN : 485451N 0013740E
- UPPER LIMIT : 1000FT AGL (1400FT AMSL)
- SKED : SR-SS
REF AIP FRANCE ENR 5.5
F) SFC G) 1400FT AMSL

W2578/25
MODEL FLYING ACTIVITY AT 'BARZY-SUR-MARNE' (02)
- RDL 079/7.6NM ARP LFFH :
- PSN : 490525N 0033246E
- SKED : 0800-1800 (SUMMER -1HR)
- BY DAY ONLY
REF AIP FRANCE ENR 5.5
F) SFC G) 400FT AGL

W2571/25
MODEL FLYING ACTIVITY AT 'ELETOT'
- RDL 252/8NM ARP LFOS :
- PSN : 494718N 0002607E
- SKED : SR-SS
- SLOPE FLYING
REF AIP FRANCE ENR 5.5
F) SFC G) 200FT AGL

R2399/25
TEMPO PROHIBITED AREA (ZIT) 'SUIPPES MOURMELON 1' - ANTI DRONE STRUGGLE :
1. LATERAL LIMITS :
SAME AS LF-R175A 'SUIPPES' (REF AIP ENR 5.1)
2. STATUS :
ZIT WHICH COEXISTS WITH OVERLAPPING AIRSPACES, EXCLUDING LF-R503 MOURMELON STAT WHEN **ACTIVATED**.
3. ENTRY CONDITIONS :
- ENTRY PROHIBITED TO ANY UNMANNED ACFT, EXC UNMANNED ACFT PERFORMING MIL, CUSTOMS, POLICE, SEARCH AND RESCUE, FIRE-FIGHTING OR MEDICAL TRANSPORTATION ACT WHEN FORCED TO ENTER.
- EXEMPTION SUBMITTED TO MANAGER AGREEMENT WITH PN 05 DAYS.
4. PROVIDED SERVICES :
SERVICES ARE PROVIDED IN ACCORDANCE WITH AIRSPACES CLASSES WITH WHICH ZIT COEXISTS.
5. AUTHORITY TO CONTACT :
- 51RI / PC TIR
- TEL : +333.26.67.81.00
F) SFC G) 500FT AGL

R2488/25
TEMPO PROHIBITED AREA (ZIT) 'SUIPPES MOURMELON 2' - ANTI DRONE FIGHTS :
1. LATERAL LIMITS :
490752N 0042227E,
0.8NM RADIUS CLOCKWISE ARCUS CENTRED ON 490801N 0042112E,
490810N 0042000E,
490752N 0042227E.
2. STATUS :
ZIT WHICH COEXISTS WITH OVERLAPPING AIRSPACES, EXCLUDING LF-R503 'MOURMELON STAT' WHEN **ACTIVATED**.
3. ENTRY CONDITIONS :
- ENTRY PROHIBITED TO ANY UNMANNED ACFT, EXC UNMANNED ACFT PERFORMING MIL, CUSTOMS, POLICE, SEARCH AND RESCUE, FIRE-FIGHTING OR MEDICAL TRANSPORTATION ACT WHEN FORCED TO ENTER.
- EXEMPTION SUBMITTED TO MANAGER AGREEMENT WITH PN 05 DAYS
4. PROVIDED SERVICES :
SERVICES ARE PROVIDED IN ACCORDANCE WITH AIRSPACES CLASSES WITH WHICH ZIT COEXISTS.
5. AUTHORITY TO CONTACT :
- 51RI / PC TIR
- TEL : +333.26.67.81.00
F) SFC G) 500FT AGL

R2569/25
TEMPO PROHIBITED AREA (ZIT) 'MAILLY' - ANTI DRONE MEASURES :
1. LATERAL LIMITS :
SAME AS LF-R6A (REF AIP ENR 5.1)
2. STATUS :
'ZIT' WHICH COEXISTS WITH OVERLAPPING AIRSPACES
3. ENTRY CONDITIONS :
- ENTRY PROHIBITED TO ANY UNMANNED ACFT, EXC UNMANNED ACFT IN STATE MISSION (DEFENCE, 'GENDARMERIE', POLICE, CUSTOM, RFFS, CIVIL SAFETY AND RESCUE)
- EXEMPTION SUBMITTED TO MANAGER AGREEMENT WITH PN 05 OPENING DAYS
4. PROVIDED SERVICES :
SERVICES ARE PROVIDED IN ACCORDANCE WITH PARTS OF AIRSPACES CLASSE WITH WHICH 'ZIT' COEXISTS
5. AUTHORITY TO CONTACT (MANAGER) :
- CENTAC MAILLY
- TEL : +333 10 10 81 75 OR +333 10 10 82 22 OR +336 72 28 64 93.
F) SFC G) 500FT AGL

R2474/25
TRIGGER NOTAM - AIP SUP 176/25 MODIFIED :
OUT-OF-SIGHT UNMANNED FLIGHTS WITHIN THE SOUTHERN REGION OF 'CHARTRES', REQUIRING THE CREATION OF A TEMPORARY RESTRICTED AREA ('ZRT DRONE').
ZRT ACTIVABLE BY NOTAM WITH A MINIMUM OF 48HR NOTICE.

MODIFICATION :
ADD, IN 'LATERAL LIMITS' ITEM, THE COORDINATES 481902N 0015055E, AT THE END OF THE COORDINATES

THIS AIP SUP IS **AVBL** AT WWW.SIA.AVIATION-CIVILE.GOUV.FR
F) SFC G) 500FT AGL

R2096/25
TRIGGER NOTAM - AIP SUP 159/25 : WEAPON AIRCRAFT TRAINING REQUIRING
THE CREATION, ON AN EXPERIMENTAL BASIS, OF 3 TEMPORARY RESTRICTED AREAS IN THE SAINT-DIZIER REGION.
THIS AIP SUP IS **AVBL** AT WWW.SIA.AVIATION-CIVILE.GOUV.FR
F) FL065 G) FL195

R1655/25
TEMPORARY RESTRICTED AREA (ZRT) CLOSE TO FORGES LES EAUX:
UNMANED ACFT FLIGHT OUT OF SIGHT
1/ LATERAL LIMITS:
4.3 NM RADIUS CIRCLE CENTRED ON 493611N 0013124E
2/STATUS:
ZRT WHICH, WHEN **ACTIVATED**, REPLACES THE OTHER OVERLAPPING AIRSPACE PARTS.
3/PROVIDED SERVICES :
FLIGHT INFORMATION AND ALERT PROVIDED BY 'LILLE INFO' OR 'BEAUVAIS INFO'
4/ OAT/GAT ENTRY CONDITIONS :
COMPULSORY AVOIDANCE DURING ACTUAL ACTIVITY EXC :
-UNMANED ACFT PARTICIPATED TO OPERATION
-ACFT PERFORMING MILITARY, CUSTOMS, POLICE, SEARCH AND RESCUE, FIRE FIGHTING, MEDICAL TRANSPORTATION OPERATIONS WHEN FORCED TO ENTER AFTER COODINATION WITH OPERATION DIRECTOR(TEL: +33 279 580 040) 5/ACTUAL ACTIVITY KNOWN BY :
LILLE INFO: 134.825MHZ
BEAUVAIS APP: 123.985MHZ
F) SFC G) 400FT AGL

W1335/25
AEROBATICS ACTIVITY NR6457 'SAINCAIZE' (58) **WITHDRAWN**
PSN : 465600N 0030400E
REF ENR5.5
F) 2500FT AGL G) 4500FT AGL

R1172/25
TRIGGER NOTAM - AIP SUP 088/25 MODIFIED :
UAV FLIGHTS IN CHAUMONT, MAILLY, SUIPPES AND SISSONNE REGIONS
REQUIRING THE CREATION OF A 5 TEMPORARY RESTRICTED AREAS.
THESE AREAS CAN BE **ACTIVATED** FROM MON 05H00 TO FRI 11H00 (SUM :
-1HR) EXCEPT ON PUB HOL, BY A D-7 PRIOR NOTICE NOTAM.

--- 'ZRT TRANSIT B', HAND AMEND THE COORDINATES OF THE POINT AFTER
THE FIRST ARC OF CIRCLE :
READ 483250N 0042902E INSTEAD OF 083250N 0042902E.

THIS AIP SUP IS **AVBL** AT WWW.SIA.AVIATION-CIVILE.GOUV.FR
F) FL055 G) FL125

W0904/25
AEROBATICS ACTIVITY AT 'PRE SAINT MARTIN' :
AXIS 170/350
LENGTH 2000M
CENTRED ON PSN 481243N 0012936E (RDL 026/10NM ARP LFOC CHATEAUDUN)
WINTER SKED : 0900-1100 1300-1600 (SUMMER SKED : -1HR)
USERS INFORMATION :
SEINE INFO 127.815MHZ
PARIS INFO 129.625MHZ
F) 1500FT AMSL G) 4500FT AMSL

W0928/25
SR-SS
PARAGLIDER WINCHING ACT AT 'VIENNE EN VAL' :
RDL : 196/05NM LFOZ ARP
PSN : 474858N 0020749E
(FLASHING LIGHTS ON WINCH)
F) SFC G) 2000FT AMSL

R1032/25
TRIGGER NOTAM - AIP SUP 233/24 MODIFIED :
REMOTELY PILOTED AIRCRAFT FLYING OVER FRANCE UPPER AIRSPACE
REQUIRING THE CREATION OF A TEMPORARY DANGEROUS AREA AND TEMPORARY
RESTRICTED AREAS.
THESE AREAS ARE **ACTIVATED** BY NOTAM 48HR BEFORE (ON WORKING DAY).

CORRECT FOR READ :
RELEVANT AUTHORITIES CONTACT DETAILS
'CDC LYON MONT VERDUN' (RAMBERT) : +33 4 87 65 61 99

THIS AIP SUP IS **AVBL** AT WWW.SIA.AVIATION-CIVILE.GOUV.FR
F) FL490 G) FL550

R0685/25
TRIGGER NOTAM - AIP SUP 048/25
CREATION OF 6 TEMPO RESTRICTED AREAS (ZRT) AND 5 TEMPO **DANGER**
AREAS FOR UNMANNED ACFT FLYING OUT OF SIGHT IN THE BAY OF 'SEINE'
AND 'COTENTIN', ACTIVABLE BY NOTAM WITH A 48HR PN.
THIS AIP SUP IS **AVBL** AT WWW.SIA.AVIATION-CIVILE.GOUV.FR
F) SFC G) 2000FT AMSL

W2942/24
SR-SS
UNMANNED AIRCRAFT (UA) ACTIVITY ABOVE 'VAUDOY EN
BRIE' FOR EXPERIMENTS
PSN : 484024N 0030441E (COLOCATED WITH MODEL FLYING ACTIVITY AEM
NR 8604 'VAUDOY EN BRIE')
RDL 031/5.4NM ARP LFAI.
F) SFC G) 1400FT AMSL

++++++++++++++++++++++++++++++ ROUTE ++++++++++++++++++++++++++++++

F0695/26
REVERSAL OF THE PARITY OF THE LOWER ROUTE R50 :
- EVEN IN THE **DIRECTION** CAN-OKRUZ-ABB-OBIVA-CMB
- ODD IN THE **DIRECTION** CMB-OBIVA-ABB-OKRUZ-CAN

F1752/25
'NORTH EAST' FRA CELL - AIRAC AIP AMDT, CHART ENR 6.2 ED2/2025 :
ADD THE FOLLOWING SEGMENTS :
AWY B3 : RLP-VUCTU / VERMA-CMB
AWY J10 : DIKOL-SUIPE
AWY L613 : VESAN-RATUK / RATUK-SOVAT
AWY L615 : LUREN-DJL
AWY N57 : EGOZE-ABB
AWY N872 : MEDIL-LESDO
AWY N873 : ADUTO-VEKIN
AWY N874 : VENOR-EGOZE / NURMO-VENOR / PERON-NURMO / SULEX-PERON / CMB-SULEX / VEKIN-CMB
AWY Q763 : TALUD-RAPOR
AWY T22 : ABB-RATUK
AWY T37 : TRO-BOLLY / BOLLY-KASON / KASON-DJL
AWY T372 : VERMA-LESDO
AWY Y473 : LUMIL-TULNI
AWY Z110 : AMPUM-VAVOT / VAVOT-MMD
AWY Z173 : VEKIN-ARVOL
AWY Z373 : CMB-ARVOL
FOR MORE DETAILS, REFERENCE AIP FRANCE ENR 3.2.

F1751/25
'CENTER' FRA CELL - AIRAC AIP AMDT 12/25, CHART ENR 6.2 ED2/2025 :
ADD FOLLOWING SEGMENTS :
AWY A3 : MOU - OMANI / OMANI - FEDZI / FEDZI - LESPI.
FOR MORE DETAILS, REFERENCE AIP FRANCE ENR 3.2-2.

F1714/25
ADDITION OF THE SIGNIFICANT POINT 'PITHI' ON AWY N872 :
COORDINATES : 501126.5N 0033422.2E
MEDIL
204DEG 10NM FL500 FL115 PARIS/REIMS
PITHI
204DEG 25NM FL500 FL115 PARIS/REIMS
LESDO
REFERENCE AIP FRANCE ENR 3.2-56 AND ENR 4.4-25.

LECB BARCELONA FIR/UIR

Please see section EXTENDED AREA AROUND DESTINATION

[Company NOTAM]

==========
CREW ALERT
==========

SB007/14
SUBJECT: AUTO COST INDEXES
WHEN PLANNING A COST INDEX, 2 OPTIONS ARE AVAILABLE. PILOTS MAY EITHER SELECT A SPECIFIC COST INDEX NUMBER FROM THE LIST, OR THEY MAY SELECT "AUTO". WHEN PLANNING AN "AUTO" COST INDEX, THE SYSTEM WILL REFERENCE THE SCHEDULED "TIME ENROUTE" OPTION AND ATTEMPT TO CHOOSE A COST INDEX WHICH CLOSELY MATCHES THIS VALUE. NOTE THAT THE "TIME ENROUTE" OPTION IS MEANT AS A GATE TO GATE TIME (AS INDICATED ON AN AIRLINE'S FLIGHT SCHEDULE, FOR EXAMPLE). IF A "TIME ENROUTE" OF 2:30 IS SELECTED, THE SYSTEM WILL SUBTRACT THE TAXI TIMES FROM THIS VALUE TO DETERMINE THE SCHEDULED AIR TIME. IT WILL THEN DETERMINE AND USE THE COST INDEX WHICH MATCHES THIS AIR TIME.

SB003/13
SUBJECT: FLIGHT RELEASE UNITS
ALL FLIGHT CREW: PLEASE PAY SPECIAL ATTENTION TO THE UNITS SELECTION WHEN GENERATING A FLIGHT PLAN. FAILURE TO IDENTIFY THE CORRECT UNITS WHEN REFUELING PRIOR TO FLIGHT CAN RESULT IN DEPARTING WITH INSUFFICIENT FUEL AND/OR AN ERRONEOUS PAYLOAD.

==========
CREW BULLETIN
==========

NIL

========== END OF LIDO-NOTAM-BULLETIN ==========

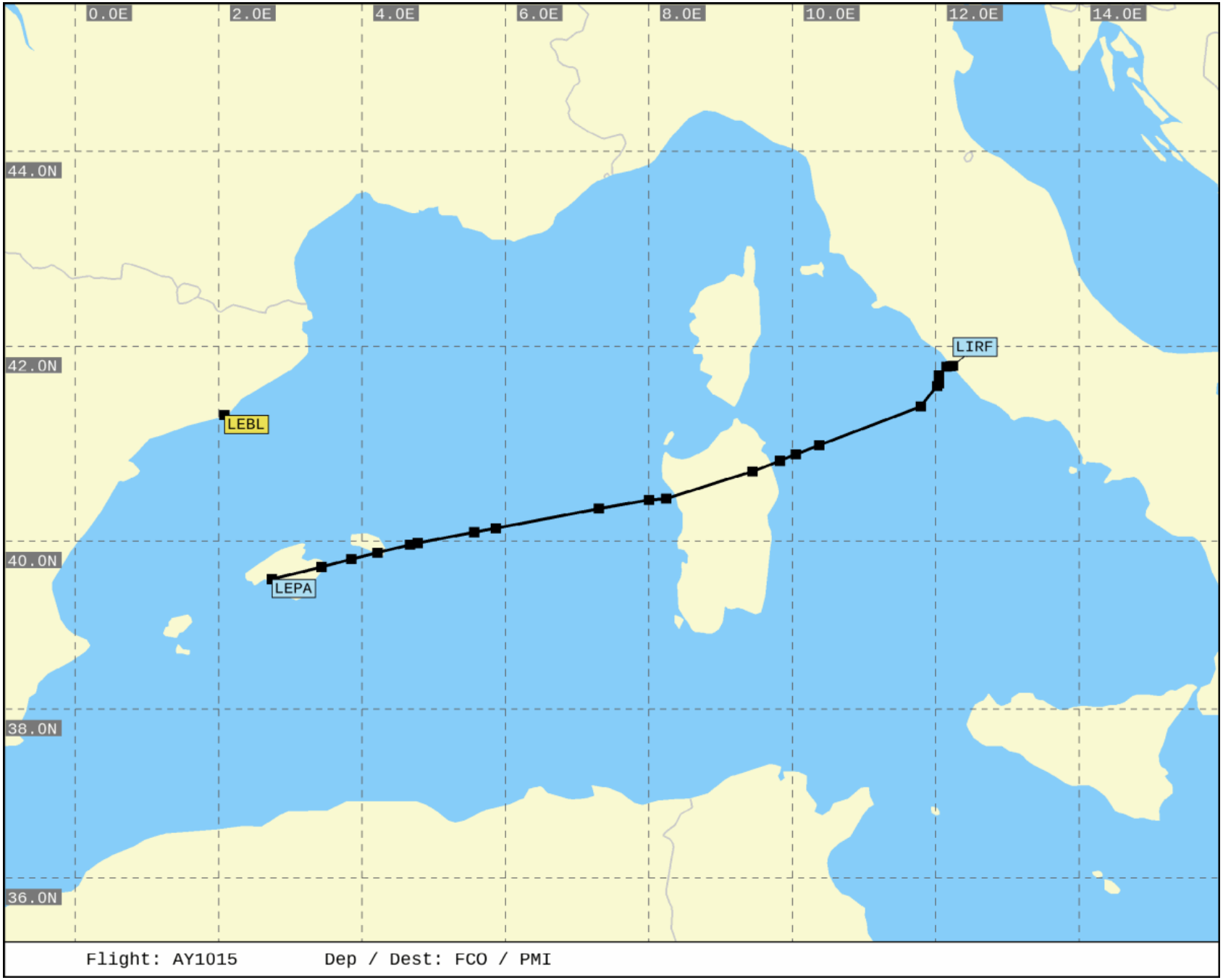
0.0E
2.0E
4.0E
6.0E
8.0E
10.0E
12.0E
14.0E
44.0N
42.0N
40.0N
38.0N
36.0N
LIRF
LEBL
LEPA
Flight: AY1015
Dep / Dest: FCO / PMI

SIG WX FL 100-450 WASHINGTON
VALID 12 UTC ON 26.Apr.2026

Flight: AY1015 Dep / Dest: FCO / PMI

SIG WX FL 250-630 WASHINGTON
VALID 12 UTC ON 26.Apr.2026

Flight: AY1015 Dep / Dest: FCO / PMI

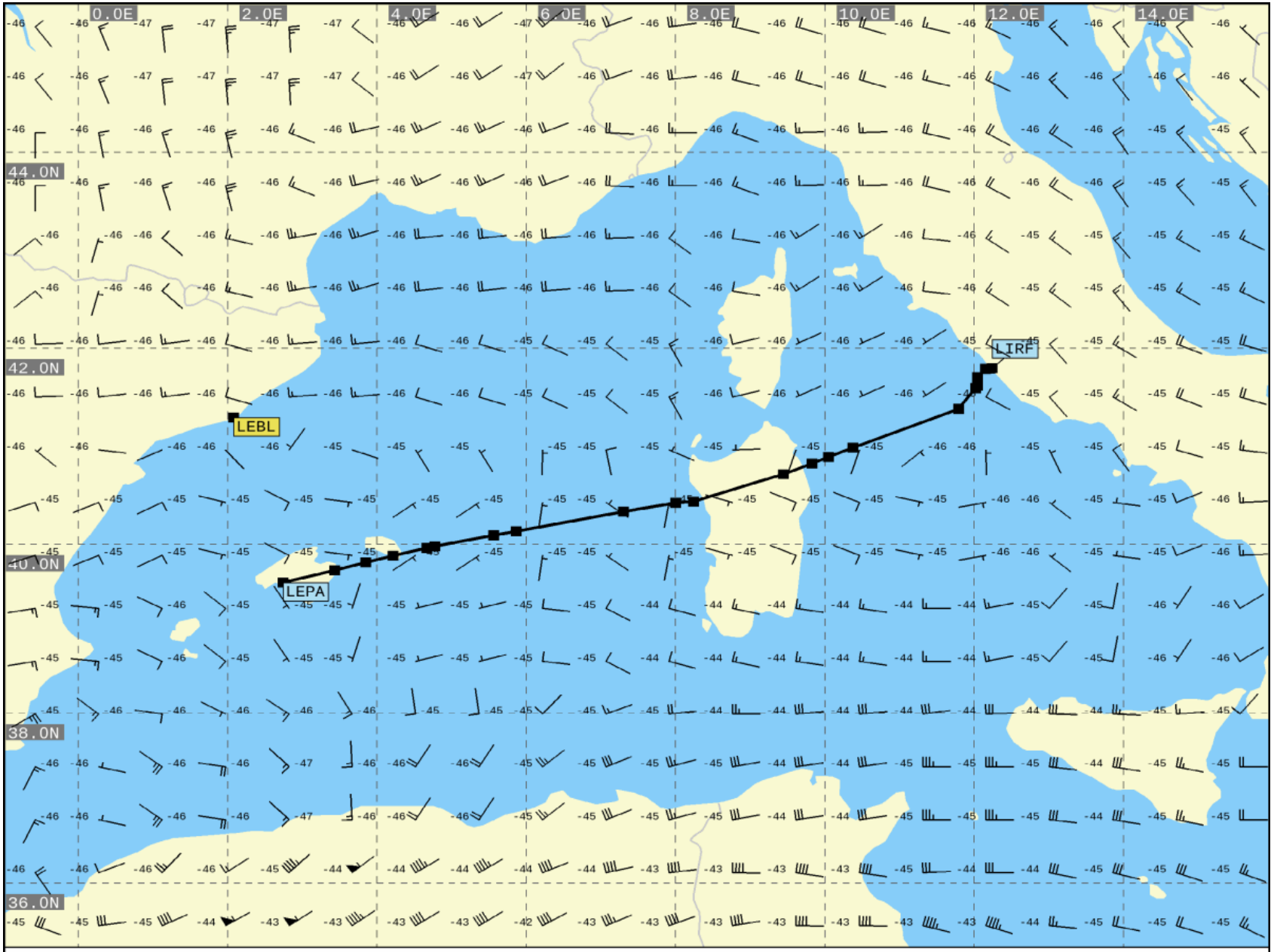

UAD VALID 12 UTC ON 26.Apr.2026 06h FL 300

Flight: AY1015 Dep / Dest: FCO / PMI

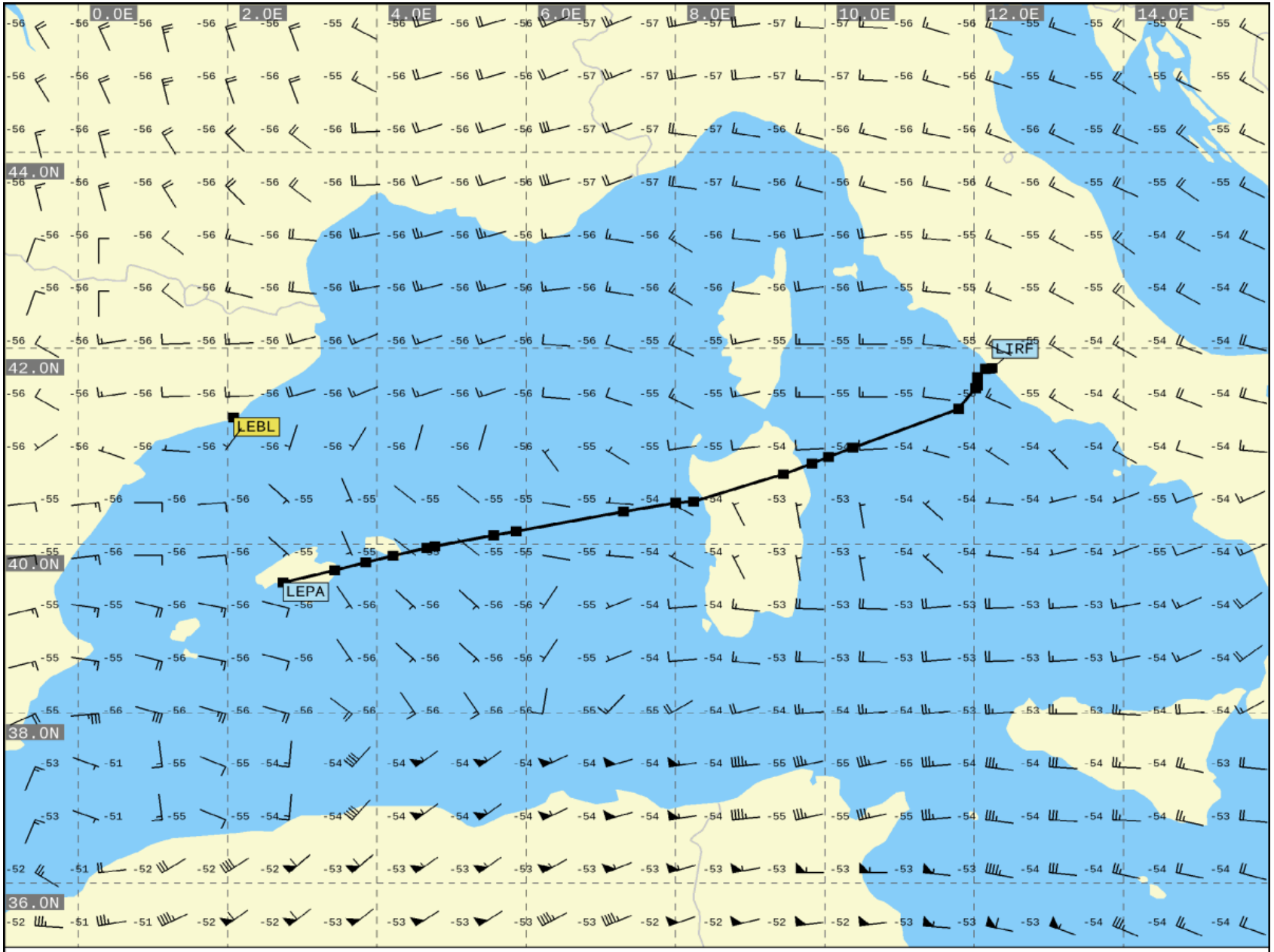

UAD VALID 12 UTC ON 26.Apr.2026 06h FL 340

Flight: AY1015 Dep / Dest: FCO / PMI

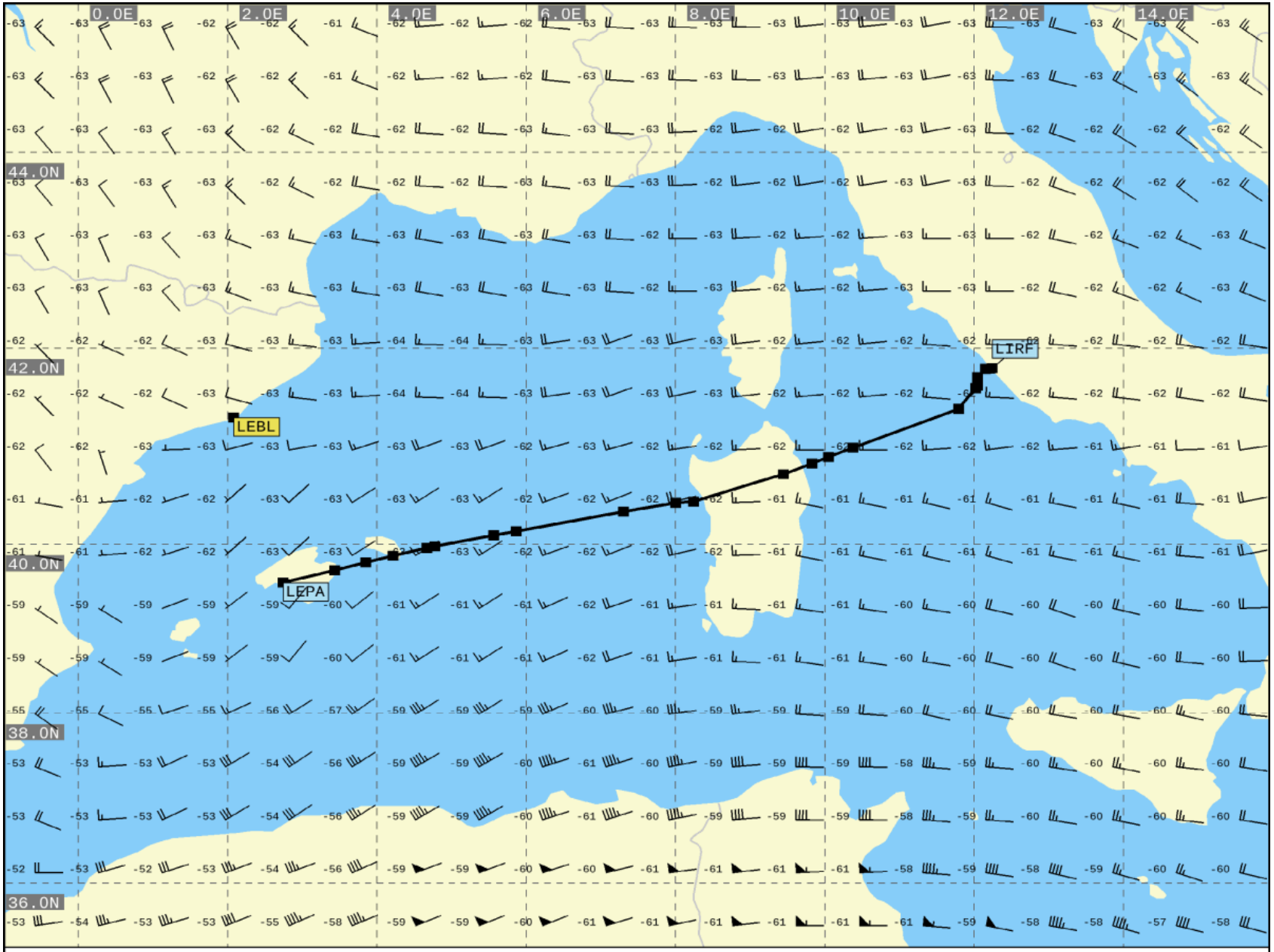

UAD VALID 12 UTC ON 26.Apr.2026 06h FL 390

Flight: AY1015 Dep / Dest: FCO / PMI



Profile VALID 12 UTC ON 26.Apr.2026 06h Average

Flight: AY1015 Dep / Dest: FCO / PMI

End of Document: Total Number of Pages: 77