[OFP]

```
---------------------------------------------------------------------
FIN1007   21MAR2026    LPPT-LEMD   A333 N339SB  RELEASE 1355 21MAR26
OFP 1      HUMBERTO DELGADO-ADOLFO SUAREZ MADRID-BARAJAS
                         WX PROG 2112 2115 2118   OBS 2106 2106 2106

  ATC C/S   FIN1007      LPPT/LIS   LEMD/MAD      CRZ SYS      CI 36
21MAR2026   N339SB       1425/1445  1535/1543     GND DIST       313
A330-300 / TRENT 772                STA  1545     AIR DIST       316
                         CTOT:....                G/C DIST       277
                                                  AVG WIND   097/005
MAXIMUM    TOW 233000  LAW 187000  ZFW 175000     AVG W/C       M004
ESTIMATED  TOW 161773  LAW 156901  ZFW 150254     AVG ISA       M003
                                                  AVG FF KGS/HR 5752
                                                  FUEL BIAS    P00.0
ALTN LEVC                                         TKOF ALTN  .......
FL STEPS LPPT/0320/
---------------------------------------------------------------------
DISP RMKS   NIL

---------------------------------------------------------------------
         PLANNED FUEL
---------------------------------
FUEL           ARPT   FUEL   TIME
---------------------------------
TRIP            MAD   4872   0050
CONT 15 MIN           1438   0015
ALTN            VLC   3115   0036
FINRES                2094   0030
---------------------------------
MINIMUM T/OFF FUEL   11519   0212
---------------------------------
EXTRA                    0   0000
---------------------------------
T/OFF FUEL           11519   0212
TAXI            LIS    544   0020
---------------------------------
BLOCK FUEL      LIS  12063
PIC EXTRA            .....
TOTAL FUEL           .....
REASON FOR PIC EXTRA ............
---------------------------------------------------------------------
FMC INFO:
FINRES+ALTN           5209
TRIP+TAXI             5416
---------------------------------------------------------------------
NO TANKERING RECOMMENDED (P)
---------------------------------------------------------------------
I HEREWITH CONFIRM THAT I HAVE PERFORMED A THOROUGH SELF BRIEFING
ABOUT THE DESTINATION AND ALTERNATE AIRPORTS OF THIS FLIGHT
INCLUDING THE APPLICABLE INSTRUMENT APPROACH PROCEDURES, AIRPORT
FACILITIES, NOTAMS AND ALL OTHER RELEVANT PARTICULAR INFORMATION.

DISPATCHER: KRISTIE VINCENT             PIC NAME: GM, PAYAM

TEL: +1 800 555 0199               PIC SIGNATURE: ...............
```

```
ALTERNATE ROUTE TO:                                          FINRES   2094
APT      TRK DST              VIA                   FL  WC  TIME  FUEL
-----------------------------------------------------------------------
LEVC/12  111 174  DCT NANDO M871 ABOSI ABOSI5D   190 P003 0036  3115
-----------------------------------------------------------------------

MEL/CDL ITEMS DESCRIPTION
------------- -----------

-----------------------------------------------------------------------

ROUTING:

ROUTE ID: DEFRTE
LPPT/02 ORVED1N ORVED DCT OGERO DCT ROLDO DCT RUKER Z409 TLD TLD3C
LEMD/32R

-----------------------------------------------------------------------
DEPARTURE ATC CLEARANCE:
.
.
.
-----------------------------------------------------------------------
                         OPERATIONAL IMPACTS
                         -------------------
WEIGHT CHANGE UP 1.0          TRIP  P 0019 KGS   TIME P 0000
WEIGHT CHANGE DN 1.0          TRIP  M 0026 KGS   TIME P 0000
FL CHANGE     UP FL1          TRIP  M 0075 KGS   TIME P 0000
FL CHANGE     DN FL1          TRIP  P 0061 KGS   TIME P 0000
FL CHANGE     DN FL2          TRIP  P 0065 KGS   TIME P 0001
SPD CHANGE    CI 0            TRIP  M 0049 KGS   TIME P 0001
SPD CHANGE    CI 300          TRIP  P 0209 KGS   TIME M 0002
-----------------------------------------------------------------------
```

```
-----------------------------------------------------------------------
ATIS:
.
.
--------- --------- --------- --------- --------- --------- --------
RVSM: ALT SYS  LEFT:             STBY:             RIGHT:

--------- --------- --------- --------- --------- --------- --------
-----------------------------------------------------------------------
                                TIMES
                                -----

               ESTIMATED        SKED              ACTUAL

OUT            1425Z/1425L      1425Z/1425L       ......Z

OFF            1445Z/1445L      1445Z/1445L       ......Z

ON             1535Z/1635L      1537Z/1637L       ......Z

IN             1543Z/1643L      1545Z/1645L       ......Z

BLOCK TIME     0118             0120              ......

-----------------------------------------------------------------------
                               WEIGHTS
                               -------

                EST      MAX     ACTUAL

PAX             220              ......

BAG/CARGO       5.5              ......

PAYLOAD        23.0              ......

ZFW           150.3    175.0     ......

FUEL           12.1     42.2     ......  POSS EXTRA 30.1

TOW           161.8    191.9  LDG......

STAB TRIM                        ......

LAW           156.9    187.0     ......

-----------------------------------------------------------------------
                       TERRAIN CLEARANCE CHECK
                       -----------------------
DD CHECK - TERRAIN CLEARANCE CHECK DISABLED

DP CHECK - TERRAIN CLEARANCE CHECK DISABLED
-----------------------------------------------------------------------
```

FLIGHT LOG

MOST CRITICAL MORA 05300 FEET AT MD445///MXSHR 03 AT TOC

AWY POSITION IDENT FREQ	LAT LONG	EET TTLT	ETO ATO	FL MORA DIS	IMT ITT RDIS	MN TAS GS	WIND COMP SHR	OAT TDV TRP	EFOB AFOB	PBRN ABRN
					029				11.5	0.5
HUMBERTO DE	N3846.5		...	32	026		P003			
LPPT	W00908.1	0000	...		313	283			....	....
ORVED1N				074	065	.43	178/003	02	10.7	1.3
EMPAD	N3853.7	0002	...	32	064		P003	P02		
EMPAD	W00903.3	0002	...	8	305	283		343	....	....
ORVED1N				197	065	.66	226/003	M23	9.7	2.3
PT753	N3903.7	0004	...	30	064		P003	P01		
PT753	W00836.6	0006	...	23	282	413		343	....	....
ORVED1N				294	070	.80	123/010	M48	8.9	3.1
IDBID	N3916.7	0004	...	31	069		M005	M04		
IDBID	W00801.0	0010	...	30	252	463		343	....	....
ORVED1N				320	072	.80	140/007	M54	8.7	3.3
T O C	N3920.9	0002	...	35	069	461	M002	M05		
	W00746.5	0012	...	12	240	459	3	343	....	....
ORVED1N				320	067	.74	139/007	M54	8.7	3.4
ORVED	N3923.0	0000	...	47	066	429	M002	M05		
ORVED	W00739.1	0012	...	6	234	427	3	343	....	....
MADRID FIR/UIR										
-LECM	N3929.4	0002	...							
	W00719.7	0014	...	16	218					
DCT				320	083	.75	085/009	M54	8.0	4.1
OGERO	N3948.1	0007	...	44	083	430	M009	M05		
OGERO	W00624.0	0021	...	47	171	421	1	342	....	....
DCT				320	084	.74	085/009	M54	7.5	4.5
ROLDO	N3952.5	0006	...	40	083	429	M009	M05		
ROLDO	W00532.7	0027	...	40	131	420	1	342	....	....
DCT				320	085	.74	109/004	M54	7.1	4.9
T O D	N3956.0	0005	...	40	084	428	M004	M05		
	W00449.9	0032	...	33	98	424	1	340	....	....
DCT				286	084	.80	143/004	M46	7.1	4.9
RUKER	N3957.0	0001	...	41	084		M002	M04		
RUKER	W00436.7	0033	...	10	88	468		340	....	....
Z409				243	129	.73	321/003	M34	7.1	5.0
TOLEDO	N3958.2	0002	...	45	129		P002	P00		
TLD	W00420.2	0035	...	13	75	444		340	....	....
113.20										

```
AWY                                FL   IMT   MN    WIND  OAT  EFOB  PBRN
POSITION    LAT      EET ETO MORA  ITT  TAS    COMP  TDV
IDENT       LONG    TTLT ATO DIS  RDIS   GS     SHR  TRP  AFOB  ABRN
FREQ
-----------------------------------------------------------------------
TLD3C                           199   099  .66 302/005  M23   7.0   5.0
MD445       N3950.1 0002 ...  53   099         P005  P02
MD445      W00407.3 0037 ...  13    62  416          340  ....  ....

TLD3C                           168   045  .62 316/003  M15   7.0   5.1
BUREX       N3948.7 0002 ...  45   045         P002  P04
BUREX      W00356.4 0039 ...   9    53  394          340  ....  ....

TLD3C                           138   045  .58 014/004  M09   7.0   5.1
MD440       N3955.3 0001 ...  45   045         M003  P04
MD440      W00347.5 0040 ...   9    44  370          340  ....  ....

TLD3C                           101   045  .54 018/006  M04   6.9   5.1
YUNYE       N4002.6 0002 ...  47   045         M005  P01
YUNYE      W00337.7 0042 ...  11    33  345          339  ....  ....

TLD3C                           064   345  .42 115/007   01   6.9   5.2
FAFEQ       N4010.2 0002 ...  47   345         M002  M01
FAFEQ      W00327.6 0044 ...  11    22  272          337  ....  ....

TLD3C                                                        6.6   5.4
ADOLFO SUAR N4028.3 0006 ...
LEMD       W00333.6 0050 ...  22                           ....  ....
```

WIND INFORMATION

CLIMB	T O C	ORVED	OGERO
350 220/008 -57	360 229/012 -56	360 229/012 -56	360 253/003 -57
310 128/009 -52	340 195/005 -57	340 195/005 -57	340 070/007 -58
200 228/003 -24	320 139/007 -54	320 139/007 -54	320 085/009 -54
150 193/005 -12	300 121/012 -50	300 121/012 -50	300 094/010 -49
100 216/003 -02	280 129/007 -45	280 129/007 -45	280 095/006 -44

ROLDO	T O D	DESCENT
360 253/003 -57	360 248/007 -56	350 226/002 -57
340 070/007 -58	340 098/003 -58	310 111/004 -52
320 085/009 -54	320 108/004 -54	200 303/005 -23
300 095/010 -49	300 116/005 -50	150 346/003 -12
280 095/006 -44	280 156/004 -44	100 018/006 -04

[ATC Flight Plan]

ICAO FLIGHT PLAN

```
FF LPPCZQZX LECMZQZX
211355 CYULSBFP
(FPL-FIN1007-IS
-A333/H-SDE3GHIJ2J3J5M1RVWXY/LB2D1
-LPPT1425
-N0429F320 ORVED1N ORVED DCT OGERO DCT ROLDO DCT RUKER Z409 TLD
 TLD3C
-LEMD0040 LEVC
-PBN/A1B1C1D1O1S2 DOF/260321 REG/N339SB EET/LECM0014 OPR/FIN PER/C
 RMK/TCAS)
```

[Additional Info]

D I S P A T C H B R I E F I N G I N F O AY1007 LPPT/LEMD

[Runway Analysis]

```
----------------------------------------------------------------------

TAKEOFF AND LANDING REPORT FIN 1007 LPPT-LEMD 21MAR26
TLR-1 SEQ-166875610 21MAR26 1355Z
A/C N339SB  A330-300 TRENT 772  BEW/CG 127303/.....

/// TAKEOFF DATA ///

APT   PRWY  POAT PWIND  PQNH  PMRTW FLP MT V1 VR V2 PTOW MFPTW LIMIT
LPPT  02    17.0 322M06 1009  2330  1   53 27 27 38 1618 1919  AFM

RMKS FLEX - SEL TEMP 53
     BLEEDS ON

---- ---- ------ ----- ------- --- --- --- --- --- -----------------
RWY  OAT  WIND   QNH   MRTW    FLP V1  VR  V2  PWR CONFIG/CONDITION

---------------------------- ACARS RUNWAYS --------------------------
RWY          ACARS  LENGTH PMTOW NOTES
02                   12162  2330 ILS 109.10
20                   12162  2330 ILS 109.50

-------------------- DRY RWY - PTOW - CALM WIND --------------------
RWY          MTOW MT CONFIG                   FLP  V1  VR  V2  LIMIT
02           2330 53 FLEX - BLEEDS ON           1 127 127 138  AFM
20           2330 53 FLEX - BLEEDS ON           1 127 127 138  AFM

--------------- DRY RWY - PTOW PLUS 4000 - CALM WIND ---------------
RWY          MTOW MT CONFIG                   FLP  V1  VR  V2  LIMIT
02           2330 53 FLEX - BLEEDS ON           1 127 127 138  AFM
20           2330 53 FLEX - BLEEDS ON           1 127 127 138  AFM

-------------------- WET RWY - PTOW - CALM WIND --------------------
RWY          MTOW MT CONFIG                   FLP  V1  VR  V2  LIMIT
02           2330 53 FLEX - BLEEDS ON           1 127 127 138  AFM
20           2330 53 FLEX - BLEEDS ON           1 127 127 138  AFM

--------------- WET RWY - PTOW PLUS 4000 - CALM WIND ---------------
RWY          MTOW MT CONFIG                   FLP  V1  VR  V2  LIMIT
02           2330 53 FLEX - BLEEDS ON           1 127 127 138  AFM
20           2330 53 FLEX - BLEEDS ON           1 127 127 138  AFM

/// LANDING DATA ///

APT   PRWY  POAT PWIND  PQNH  PMRLW FLP  PLDW  LIMIT
LEMD  32R   11.0 000M02 1012  1870  FULL 1569  AFM

RMKS NONE

-------- ---- ------ ----- ------- --- ----- --- -------------------
RWY      OAT  WIND   QNH   MRLW    FLP VREF  PWR CONFIG/CONDITION
```

```
--------------------------- ACARS RUNWAYS -------------------------
RWY          ACARS  LENGTH PMRLW NOTES
14L                  11483  1870
14R                  13084  1870
18L                   9843  1870 ILS 111.50
18R                  11041  1870 ILS 110.70
32L                  10039  1870 ILS 109.90
32R                   9843  1870 ILS 109.10
36L                  13711  1870
36R                  11483  1870

------------- FLAPS FULL - PACKS ON - NO ENROUTE ICING -------------
DRY RWY / WET RWY
            14L            14R            18L            18R
  OAT       11483 FT       13084 FT       9843 FT        11041 FT
   06       1870A/1870A    1870A/1870A    1870A/1870A    1870A/1870A
 / 11       1870A/1870A    1870A/1870A    1870A/1870A    1870A/1870A
   16       1870A/1870A    1870A/1870A    1870A/1870A    1870A/1870A
HW/10KT         0/    0        0/    0        0/    0        0/    0
TW/10KT         0/    0        0/    0        0/    0        0/    0

            32L            32R            36L            36R
  OAT       10039 FT       9843 FT        13711 FT       11483 FT
   06       1870A/1870A    1870A/1870A    1870A/1870A    1870A/1870A
 / 11       1870A/1870A    1870A/1870A    1870A/1870A    1870A/1870A
   16       1870A/1870A    1870A/1870A    1870A/1870A    1870A/1870A
HW/10KT         0/    0        0/    0        0/    0        0/    0
TW/10KT         0/    0        0/    0        0/    0        0/    0

-------- LANDING DISTANCE - FLAPS FULL - MAX MANUAL BRAKING --------
                   ACTUAL            FACTORED
  LDW     VREF     DRY      WET      DRY      WET
  1540    126     3446     4350     4525     5564
  1560    126     3446     4350     4525     5564
/ 1580    126     3446     4350     4525     5564
  1600    126     3446     4350     4525     5564
  1620    127     3474     4385     4568     5615
HW/KT              -20      -26      -24      -30
TW/KT               62       78       92      110

END TAKEOFF AND LANDING REPORT FIN 1007 LPPT-LEMD 21MAR26
```

[Airport WX List]

```
-----------------------------------------------------------------------
LPPT --> LEMD    AY  1007 / 21MAR2026
LIDO/WEATHER SERVICE       DATE : 21Mar2026   TIME : 13:55 UTC

AIRMETs:
  No Wx data available

SIGMETs:
LPPC  LISBON FIR
  WS  SIGMET T06 VALID 211300/211500 LPPT- LPPC LISBOA FIR
             EMBD TS FCST WI N3149 W01457 - N3532 W01219 - N3631
             W015 - N3452 W01701 - N3136 W01719 - N3126 W01601 -
             N3149 W01457 TOP FL360 MOV NNE 20KT NC=

Tropical Cyclone SIGMETs:
  No Wx data available

Volcanic Ash SIGMETs:
  No Wx data available

Departure:
LPPT/LIS  HUMBERTO DELGADO
  SA  211330  VRB06G18KT 9999 SCT022 17/13 Q1009
  FT  211100  2112/2218 11007KT 9999 SCT015 SCT035
              TEMPO 2112/2121 8000 SHRA SCT012 FEW018CB BKN025
              PROB30 TEMPO 2115/2121 VRB15G25KT 3000 TSRA BKN008
              SCT016CB
              BECMG 2118/2120 05007KT
              BECMG 2121/2123 FEW015
              PROB30 2103/2110 BKN008
              BECMG 2216/2218 32005KT

Destination:
LEMD/MAD  ADOLFO SUAREZ MADRID-BARAJAS
  SA  211330  VRB02KT 9999 BKN024 11/06 Q1012 NOSIG
  FT  211100  2112/2218 VRB04KT 9999 SCT030 BKN050 TX14/2212Z
              TN02/2205Z
              PROB40 TEMPO 2202/2208 3000 BR BCFG BKN010
              PROB30 TEMPO 2202/2207 0400 FG VV002

Destination Alternates:
LEVC/VLC  VALENCIA
  SA  211330  07005KT 340V130 9999 BKN030 14/09 Q1012 NOSIG
  FT  211100  2112/2212 10006KT 9999 FEW020 TX16/2112Z TN04/2206Z
              PROB30 TEMPO 2123/2206 3000 BR


  AIRPORTLIST ENDED
```

[NOTAM]

LIDO-NOTAM-BULLETIN INCLUDES NOTAM, COMP NOTAM AND AIP-REGULATION
VALID: 2603211425 - 2603211920 STD(EOBT)+TRIP+ALTN+3HRS
FIN 1007 /21MAR OFP-NR: 1
ROUTE: LPPT - LEMD ALTN: LEVC
N0429F320 ORVED1N ORVED DCT OGERO DCT ROLDO DCT RUKER Z409 TLD TLD3C

==========
DEPARTURE AIRPORT - DETAILED INFO
==========

LPPT/LIS HUMBERTO DELGADO

++++++++++++++++++++++++++++ AIRPORT ++++++++++++++++++++++++++++++

A1562/26
TWY N1 CLSD DUE TO OPERATIONAL REASONS.
A1539/26
AIRAC AIP SUP 038/2026 - LPPT - **AD** MAJOR WORKS -
EXTENSIONS OF APRON 10 AND NEW APRON 23 (PHASE 2B) IN FORCE.
A1416/26
REF AIRAC AIP SUP 037/2026, OBSTACLE ERECTED (ALFRAGIDE),
SUPPLEMENT IS HEREBY CANCELLED.
A1336/26
REF AIP SUP 044/2025, OBSTACLE ERECTED , NEW ESTIMATED END OF
VALIDITY 31 DEC 26.
A1331/26
REF AIP SUP 070/2024, OBSTACLE ERECTED (CRANE - GT1), NEW END OF
VALIDITY 31 DEC 26.
A1245/26
CRANE ERECTED AT POSITION 384517N 0090921W (TORRE DO TOMBO),
ELEVATION 118M/HEIGHT 36M, OPERATING WI 65M RADIUS.
DAY AND NIGHT SIGNALIZED.
A1259/26
ADVANCED VISUAL DOCKING GUIDANCE SYSTEM (A-VDGS) ON STAND 209 OUT
OF SERVICE. MARSHALLER ON SITE FOR ACFT PARKING PROCEDURES.
A1258/26
STOPBAR RET H3 **RWY 02/20** PROTECTION MICROWAVE BARRIER OUT OF
SERVICE.
A1061/26
ACFT PARKING INFORMATION SYSTEM (APIS) ON STAND 806
UNSERVICEABLE. MARSHALLER ON SITE FOR ACFT PARKING PROCEDURE.
A1060/26
ADVANCED VISUAL DOCKING GUIDANCE SYSTEM (A-VDGS) ON STAND 804 OUT
OF SERVICE. MARSHALLER ON SITE FOR ACFT PARKING PROCEDURES.
A1057/26
ADVANCED VISUAL DOCKING GUIDANCE SYSTEM (A-VDGS) ON STAND 805
OUT OF SERVICE. MARSHALLER ON SITE FOR ACFT PARKING PROCEDURES.
A0998/26
REF AIRAC AIP SUP 088/2025, LPPT **AD** - OBSTACLE ERECTED (CRANE),
NEW END OF VALIDITY 31 DEC 2026 ESTIMATED.

A0799/26
MILITARY APRON OPEN TO CIVIL AIR TRAFFIC. COMPLYING WITH EU SAFETY AND SECURITY RULES.
NEW AIRCRAFT STAND DESIGNATIONS, COORDINATES AND CRITICAL A/C AS FOLLOWS:
STAND 900 - 384650.7829N 0090753.2008W - F900
STAND 901 - 384650.5377N 0090747.9167W - B762
STAND 902 - 384649.9938N 0090748.3396W - CODE C
STAND 903 - 384652.4173N 0090746.3805W - B762
STAND 904 - 384651.1348N 0090747.3897W - CODE C
STAND 905 - 384652.2800N 0090746.4468W - CODE C
STAND 906 - 384653.5912N 0090745.4714W - C130
FOLLOW-ME GUIDANCE MANDATORY FROM **TWY C** TO PARKING POSITIONS.
STANDS NOT EQUIPPED WITH A-VDGS, GROUND POWER SYSTEM OR **FUEL** PIT.

A0423/26
NDB LAR FREQ 382KHZ UNSERVICEABLE.

A0091/26
CRANE ERECTED AT POSITION 384545.852N 0090919.232W (AVENUE CAMPO GRANDE) OPERATING WI 50M RADIUS. ELEVATION 139M/HEIGHT 52M.
DAY AND NIGHT SIGNALIZED.

A6117/25
LPPT **AD** - MAJOR WORKS - EXTENSIONS OF APRON 10 AND NEW APRON 23(PHASE 2A).
REF AIP SUP 083/2024.
TWY M1 RENAMED R1.
TWY M2, BTN T1 AND Q1 RENAMED R2.
TWY M2, BTN Q1 AND M3 RENAMED R3.
THE CURRENT TEMPORARY PARKING AREA 351, WILL BE **CLOSED** AND DELIMITED WITH A FENCE TO PERMIT THAT WORKS GOING INSIDE DO NOT INTERFERE WITH AERODROME OPERATIONS.
MARKINGS RELATED TO OLD INFRASTRUCTURE WILL BE PHYSICALLY REMOVED.
ALL APRON 10 STANDS WILL BE TEMPORARILY REPLACED BY 4 TEMPORARY PARKING POSITIONS - 001, 002, 003 AND 004.
TWY K CLOSED.
NEW TEMPORARY SERVICE ROAD CONNECTING EAST SIDE AND WEST SIDE OF THE AERODROME, PARALLEL **TWY R**.
TEMPORARY STANDS INS CHECKPOINT POSITIONS:
STAND 001 INS COORD 384555.4328N 0090749.8072W, ELEV (M/AMSL) 101, PUSH BACK TO TAXILANE A1
STAND 002 INS COORD 384559.2416N 0090748.2304W, ELEV (M/AMSL) 101, PUSH BACK TO TAXILANE A1
STAND 003 INS COORD 384600.3000N 0090748.4932W, ELEV (M/AMSL) 101, PUSH BACK TO TAXILANE A1
STAND 004 INS COORD 384601.9416N 0090748.9288W, ELEV (M/AMSL) 101, PUSH BACK TO TAXILANE A1
PHASE 2A - EXECUTION OF NEW M1 **TWY** (INSIDE THE FENCE, DOES NOT INTERFERE WITH THE MANEUVERING AREA)
ACTIVITIES: WORK TAKING PLACE WITHIN THE AREA DELIMITED BY FENCE (AREA 2A + 2B).

++++++++++++++++++++++ APPROACH PROCEDURES ++++++++++++++++++++++

A0424/26
DUE TO **NDB** LAR UNSERVICEABLE, THE FOLLOWING INSTRUMENT APPROACH PROCEDURE FOR NON-RNAV EQUIPPED AIRCRAFT ONLY IS TEMPORARILY CHANGED FOR RWY20 IN CASE OF RADIO COMMUNICATIONS FAILURE (RCF) : SQUAWK 7600. CLIMB FL070 STRAIGHT-AHEAD TO INTERCEPT AND PROCEED R357 ESP **DVOR/DME**. AT 7DME ESP **DVOR/DME** TURN LEFT TO INTERCEPT AND PROCEED R065 ESP **DVOR/DME**. AT 27DME ESP **DVOR/DME** TURN LEFT TO INTERCEPT AND PROCEED R188 FTM **DVOR**. AT 41DME FTM **DVOR** TURN LEFT HEADING 305 DEGREES TO INTERCEPT AND PROCEED R053 LIS **DVOR/DME** DESCENDING TO 4000FT. AT 7.6 **DME** LIS **DVOR/DME** PERFORM ANOTHER APPROACH PROCEDURE.

==========
DESTINATION AIRPORT - DETAILED INFO
==========

LEMD/MAD ADOLFO SUAREZ MADRID-BARAJAS

++++++++++++++++++++++++++++ AIRPORT ++++++++++++++++++++++++++++

A0824/26
TRIGGER NOTAM - PERM AIRAC AIP AMDT 02/26 WEF 19-MAR-26
MADRID/ADOLFO SUAREZ MADRID-BARAJAS AD.-
- GMC 1 CHART: CORRECTION TO THE HS-1 NORTH
HOT SPOT GRAPHIC.
A0829/26
TRIGGER NOTAM - AIRAC AIP SUP 22/26 WEF 19-MAR-26 TO 19-MAR-27 EST
MADRID/ADOLFO SUAREZ MADRID-BARAJAS **AD** (LEMD) .- RESURFACING ON **TAXIWAYS** A11 AND A12
A1844/26
REF SUP AIRAC 234/25: ACTIVATION PHASE 1
A1702/26
REF SUP 192/25: MADRID/ADOLFO SUAREZ MADRID-BARAJAS **AD** (LEMD) :
- **TWY F4** AND THE SECTION OF **TWY F3** BETWEEN PRKG 258 AND **TWY F4** WILL REMAIN **CLOSED**. SUP CNL
A1543/26
TWY EF, EH, Q3, GATES 15 AND 16, LTD TO CODE LETTER E MAX ACFT
A1304/26
REF SUP AIRAC 161/25: PHASE 1 ACT
A1379/26
REF SUP AIRAC 161/25 PHASE 1: TURNS FROM **TWY G12** TO **TWY** B5 AND FROM **TWY N4** TO **TWY G12** NOT PERMITTED FOR ACFT B777, A340, A380, B757 AND B747
A1390/26
REF SUP AIRAC 161/25 PHASE 1: TURNS FM **TWY N3** TO GATE 11 AND FM **TWY N4** TO GATE 12 NOT ALLOWED FOR ACFT TYPE B777, A340 AND B747
A1431/26
REF SUP AIRAC 161/25 PHASE 1: TURN FM **TWY G11** TO B2 NOT PERMITTED FOR ACFT B747
A1381/26
REF AIRAC SUP 133/25, PHASE 5 ACT
A1022/26
REF SUP 134/25:PHASE 3A ACT. RET L5 **CLSD** BTN **RWY** AND **TWY A11**
A1023/26
REF SUP 134/25 PHASE 3A: NORTHERN SECTION OF RAPID EXIT **TWY L7** **CLSD**

R4946/25
0900-1800
UNMANNED ACFT FLYING WI COORD:
402604N 0033535W - 402545N 0033535W - 402545N 0033608W -
402604N 0033608W - 402604N 0033535W
MADRID/MADRID
F) GND G) 00120M AGL
R0019/26
0900-1830
UNMANNED ACFT WILL TAKE PLACE WI COORD
402856N 0033734W - 402856N 0033704W - 402822N 0033705W -
402818N 0033645W - 402754N 0033639W - 402749N 0033644W -
402746N 0033712W - 402809N 0033731W - 402835N 0033735W -
402856N 0033734W
MADRID/ MADRID
F) GND G) 00100M AGL
R4911/25
UNMANNED ACFT FLYING WI COORD:
402443N 0033438W
402516N 0033137W
402355N 0033022W
402254N 0033248W
402443N 0033438W
F) GND G) 00090M AGL
R4834/25
SR-SS
UNMANNED ACFT WILL TAKE PLACE AT MADRID/MADRID AT COORDS:
402914N 0033650W
RADIUS 100M
MAX HGT 90M AGL
F) GND G) 00090M AGL
R4894/25
SR-SS
UNMANNED ACFT FLYING WI 165M RADIUS ON COORD
402620N 0033746W
MADRID/MADRID
F) GND G) 00090M AGL

++++++++++++++++++++++ APPROACH PROCEDURES ++++++++++++++++++++++++

A1738/26
REF **AD** 2-LEMD IAC 14
ILS W RWY32L NO **AVBL**
SEE NOTAM E1292/26

==========
DESTINATION ALTERNATE AIRPORT(S)
==========

LEVC/VLC VALENCIA

++++++++++++++++++++++++++++ AIRPORT +++++++++++++++++++++++++++++

R0850/26
1813-2300
SWARM 400 UNMANNED ACFT WI 120M RADIUS CENTERED ON
COORD: 392913N 0003724W
CHESTE, VALENCIA
F) SFC G) 00120M AGL

A1533/26
12 18-19 25 0815-1215
RFFS CHANGED TO **CAT** 9

==========
EXTENDED AREA AROUND DEPARTURE
==========

LPPC LISBON FIR

++++++++++++++++++++++++++++ FIR/UIR ++++++++++++++++++++++++++++++

A1543/26
ENR 1.10.1 - TIME AND PLACE OF SUBMISSION - VFR FLIGHTS - GENERAL PURPOSE FREQUENCY CHANGE TO 132.075 MHZ. REF AIP ENR 1.10.1.
A1538/26
OBSTACLE LIGHTS OF WINDMILLS PICOS - VALE DO CHAO WITHIN 2KM RADIUS AREA CENTERED AT 400425N 0080841W **U/S**.
M0492/26
TRIGGER NOTAM - NON AIRAC MIL SUP 06/26 WEF 19MAR2026. NATO AWACS E-3A ORBIT AREAS.
M0491/26
AIRAC MIL AIP SUP 03/26 IS HEREBY CANCELLED. NEW SUPPLEMENT WILL FOLLOW.
A0612/26
LPPC FIR - NATO AWACS ORBIT AREAS
3. ACTIVATION, FUA RESTRICTIONS:
LPDAW1R CHANGE TO LPD1AWR
LPDAW2R CHANGE TO LPD2AWR
LPDAW3R CHANGE TO LPD3AWR
LPDAW4R CHANGE TO LPD4AWR
LPDAW5R CHANGE TO LPD5AWR
4. DESCRIPTION OF NATO AWACS E-3A ORBIT AREAS, ORBIT AREAS: LPDAW1 CHANGE TO LPD1AW
LPDAW2 CHANGE TO LPD2AW
LPDAW3 CHANGE TO LPD3AW
LPDAW4 CHANGE TO LPD4AW
LPDAW5 CHANGE TO LPD5AW
REF AIRAC AIP SUP 039/2026.
A1065/26
REF AIP SUP 046/2025 BELARUSSIAN AIRCRAFT RESTRICTION.
NEW END OF VALIDITY 28 FEB 2027 ESTIMATED.
A1064/26
REF AIP SUP 042/2025 RUSSIAN FEDERATION - OPERATION RESTRICTION IN PORTUGUESE TERRITORY. NEW END OF VALIDITY 28 FEB 2027 ESTIMATED.
A0854/26
SINES I CHIMNEY, POSITION 375545N 0084817W ELEV 277M/HEIGHT 234M, OBSTACLE LIGHTS UNSERVICEABLE ABOVE 120M.

A0724/26
WHEN OPERATING INTO THE AIRSPACE OF VENEZUELA (FIR MAIQUETIA, SVZM), PORTUGUESE CIVIL AIR OPERATORS ARE ADVISED TO EXERCISE **CAUTION** AND IMPLEMENT CONTINGENCY PLANNING FOR OPERATIONS AT ALL ALTITUDES AND FLIGHT LEVELS, MONITOR AIRSPACE DEVELOPMENTS IN THE REGION AND FOLLOW ALL **AVAILABLE** AERONAUTICAL PUBLICATIONS, AS WELL AS ENSURE THAT AN UP-TO-DATE RISK ASSESSMENT IS IN PLACE TOGETHER WITH A HIGH LEVEL OF CONTINGENCY PLANNING FOR OPERATIONS AT ALL ALTITUDES OVER VENEZUELAN AIRSPACE. THIS ADVISORY IS ISSUED IN VIEW OF THE IMPROVING RISK ENVIRONMENT AFTER THE EVENTS THAT TOOK PLACE IN THE BEGINNING OF JANUARY 2026 AND IS VALID UNTIL 31 MARCH 2026. EMERGENCY PROVISIONS: IN THE EVENT OF AN EMERGENCY REQUIRING IMMEDIATE ACTION TO ENSURE THE SAFETY OF THE FLIGHT, THE PILOT-IN-COMMAND IS AUTHORIZED TO DEVIATE FROM THIS ADVISORY AS NECESSARY TO ADDRESS THE SITUATION.

M1813/25
PORTUGAL MIL NOF DUTY HOURS MON-FRI 0745-1545 UTC, PUBLIC HOLIDAYS EXCLUDED.OUTSIDE THESE DUTY HOURS, MIL NOF TASK IS DELEGATED TO LAJES AIR BASE ARO, LOCATION INDICATOR LPLAYOYX.

++++++++++++++++++++++++++++ WAYPOINT ++++++++++++++++++++++++++++

A0538/26
DVOR/DME SGR FREQ 113.900MHZ/CH86X , **VOR** PART **U/S**.

++++++++++++++++++++++ RESTRICTED AIRSPACE ++++++++++++++++++++++

A1535/26 VALID: 21-MAR-26 1105 - 21-MAR-26 1626
MOBILE AIRSPACE RESERVATION WILL TAKE PLACE ON ROUTE:
LUTAK - SONAP - ORTOP.
F) FL240 G) FL260

A1532/26 VALID: 21-MAR-26 1053 - 21-MAR-26 1450
MOBILE AIRSPACE RESERVATION WILL TAKE PLACE ON ROUTE:
LUTAK - SONAP - ORTOP.
F) FL100 G) FL140

A1178/26
SR-SS
PARACHUTE JUMPING EXERCISE WILL TAKE PLACE WI RADIUS 2NM CENTERED ON 403926N 0084415W (SAO JACINTO - AVEIRO).
F) GND G) 5000FT AMSL

A0541/26
17-22 1800-0659, 23 1800-0559
AIRSPACE RESERVATION FOR UAV WILL TAKE PLACE IN AREA LPD25 SANTA MARGARIDA LIMITS .
F) GND G) 5500FT AMSL

A1294/26
DAILY SR-SS
PARAGLIDING WILL TAKE PLACE WI STRAIGHT LINE DEFINED BY:
382850N 0085812W (FIGUEIRINHA)- 382446N 0091307W (CABO ESPICHEL)
ALONG THE SHORELINE.
BEGINNING AND END OF ACTIVITY MUST BE REPORTED TO LISBOA INFORMATION. F) GND G) 1600FT AMSL

A1295/26
DAILY SR-SS
PARAGLIDING WILL TAKE PLACE WI STRAIGHT LINE DEFINED BY:
371016N 0085415W (PRAIA DO AMADO) - 370552N 0085656W (PRAIA DO CASTELEJO).
BEGINNING AND END OF ACTIVITY MUST BE REPORTED TO LISBOA INFORMATION. F) GND G) 400FT AMSL

A1189/26
AIRSPACE RESERVATION FOR INSTREX26 WILL TAKE PLACE ON AREA (ITX02)
BOUNDED BY:
382215N 0091200W - 382215N 0091015W - 382300N 0090840W - 382530N 0090415W - 382542N 0085810W - 381800N 0085100W - 381300N 0085200W - 381000N 0090000W - 381000N 0091200W - 382215N 0091200W.
BEGINNING AND END OF ACTIVITY MUST BE REPORTED TO LISBOA INFORMATION. F) SFC G) 1500FT AMSL

A1193/26
AIRSPACE RESERVATION FOR INSTREX26 WILL TAKE PLACE ON AREA (ITX12)BOUNDED BY:
382400N 0093630W - 382400N 0091200W - 381000N 0091200W - 381000N 0093100W - 382400N 0093630W.
BEGINNING AND END OF ACTIVITY MUST BE REPORTED TO LISBOA INFORMATION. F) SFC G) 1500FT AMSL

A1195/26
AIRSPACE RESERVATION FOR INSTREX26 WILL TAKE PLACE ON AREA (ITX04) BOUNDED BY:
381000N 0091000W - 381000N 0090000W - 381300N 0085100W - 381300N 0084730W - 380000N 0085245W - 380000N 0091000W - 381000N 0091000W.
BEGINNING AND END OF ACTIVITY MUST BE REPORTED TO LISBOA INFORMATION. F) SFC G) 2000FT AMSL

A1198/26
AIRSPACE RESERVATION FOR INSTREX26 WILL TAKE PLACE ON AREA (ITX05) BOUNDED BY:
380000N 0091000W - 380000N 0085245W - 375715N 0085415W - 375000N 0084730W - 375000N 0091000W - 380000N 0091000W.
BEGINNING AND END OF ACTIVITY MUST BE REPORTED TO LISBOA INFORMATION. F) SFC G) 3000FT AMSL

A1200/26
AIRSPACE RESERVATION FOR INSTREX26 WILL TAKE PLACE ON AREA (ITX13) BOUNDED BY:
381000N 0093100W - 381000N 0091000W - 380000N 0091000W - 380000N 0092700W - 381000N 0093100W.
BEGINNING AND END OF ACTIVITY MUST BE REPORTED TO LISBOA INFORMATION. F) SFC G) 2000FT AMSL

A1202/26
AIRSPACE RESERVATION FOR INSTREX26 WILL TAKE PLACE ON AREA (ITX14) BOUNDED BY:
380000N 0092700W - 380000N 0091000W - 375000N 0091000W - 375000N 0093000W - 380000N 0092700W.
BEGINNING AND END OF ACTIVITY MUST BE REPORTED TO LISBOA INFORMATION. F) SFC G) 3000FT AMSL

A1220/26
AIRSPACE RESERVATION FOR INSTREX26 WILL TAKE PLACE ON AREA (ITX01) BOUNDED BY:
382751N 0090009W - 383040N 0085500W - 383040N 0085040W - 382000N 0084700W - 381800N 0084648W - 381800N 0085100W - 382542N 0085810W - 382751N 0090009W.
BEGINNING AND END OF ACTIVITY MUST BE REPORTED TO LISBOA INFORMATION. F) SFC G) 1000FT AMSL

A1191/26
AIRSPACE RESERVATION FOR INSTREX26 WILL TAKE PLACE ON AREA (ITX03) BOUNDED BY:
381800N 0085100W - 381800N 0084215W - 381400N 0084030W - 381200N 0084145W - 381300N 0085200W - 381800N 0085100W.
BEGINNING AND END OF ACTIVITY MUST BE REPORTED TO LISBOA INFORMATION. F) SFC G) 1000FT AMSL

A1090/26
MON-FRI 0900-2359
UNMANNED ACFT WILL TAKE PLACE ATOUGUIA DA BALEIA ULM AIRFIELD
392050N 0091953W - 392024N 0091853W - CIRCULAR ARC WITH CENTER AT
392055N 0091912W AND A RADIUS OF 1000 METERS, IN A RETROGRADE
DIRECTION BACK TO 392050N 0091953W (ATOUGUIA DA BALEIA). BEGINNING
AND END OF ACTIVITY MUST BE REPORTED TO LISBOA INFORMATION. F) SFC
G) 900FT AGL

A1091/26
MON-FRI 0900-2359
UNMANNED ACFT WILL TAKE PLACE AREA 2B:
391345N 0100405W - 400710N 0100534W - 400443N 0093653W -
394840N 0093709W - 391340N 0095313W - 391345N 0100405W.
BEGINNING AND END OF ACTIVITY MUST BE REPORTED TO LISBOA
INFORMATION. F) SFC G) 3500FT AMSL

A1092/26
MON-FRI 0900-2359
UNMANNED ACFT WILL TAKE PLACE WI AREA CIRCULAR SIERRA 2000M RADIUS
CENTERED ON 392509N 0092229W (SEA). BEGINNING AND END OF ACTIVITY
MUST BE REPORTED TO LISBOA INFORMATION.
F) SFC G) 900FT AGL

A1093/26
MON-FRI 0900-2359
UNMANNED ACFT WILL TAKE PLACE 750M WIDTH WI JULIET CORRIDOR:
392051N 0091913W - 392059N 0091838W - 392124N 0091800W -
392205N 0091723W - 392252N 0091824W - 392439N 0092139W -
392509N 0092230W - 392051N 0091913W.
BEGINNING AND END OF ACTIVITY MUST BE REPORTED TO LISBOA
INFORMATION. F) 500FT AMSL G) 900FT AMSL

A1094/26
MON-FRI 0900-2359
UNMANNED ACFT WILL TAKE PLACE 750M WIDTH WI INDIA CORRIDOR:
392509N 0092230W - 392322N 0092631W - 392130N 0092748W.
BEGINNING AND END OF ACTIVITY MUST BE REPORTED TO LISBOA
INFORMATION. F) 500FT AMSL G) 900FT AMSL

A1095/26
MON-FRI 0900-2359
UNMANNED ACFT WILL TAKE PLACE WI AREA 1B BOUNDED BY:
391340N 0095312W - 392144N 0094931W - 392138N 0094056W -
392133N 0092949W - 392131N 0092700W - 391642N 0092257W -
391328N 0092312W - 391340N 0095312W.
BEGINNING AND END OF ACTIVITY MUST BE REPORTED TO LISBOA
INFORMATION. F) SFC G) 900FT AMSL

A1096/26
MON-FRI 0900-2359
UNMANNED ACFT WILL TAKE PLACE 750M WIDTH ALONG HOTEL CORRIDOR:
392509N 0092230W - 394622N 0093827W.
BEGINNING AND END OF ACTIVITY MUST BE REPORTED TO LISBOA
INFORMATION. F) 500FT AMSL G) 900FT AMSL

A0721/26
07 14 21 28 0930-1830
AIRSPACE RESERVATION FOR GUN FIRING WILL TAKE PLACE WI LPD10
(ALCOCHETE).
F) GND G) 3000FT AMSL

A0931/26
SR-SS
PARAGLIDING WILL TAKE PLACE AREA BOUNDED BY:
394423N 0090216W - 393901N 0090402W - 393905N 0090428W - 394428N
0090239W - 394423N 0090216W (PAREDES DA VITORIA).
F) GND G) 400FT AGL

A0792/26
02-06 1800-1830, 09-13 1800-2330, 16-20 1800-2330, 23-27 1800-2330
AIRSPACE RESERVATION FOR GUN FIRING WILL TAKE PLACE WI LPD10
(ALCOCHETE).
F) GND G) 5000FT AMSL

A0782/26
AIRSPACE RESERVATION FOR UAV WILL TAKE PLACE IN AREA NAVY 1
BOUNDED BY:
370924N 0072509W - 364555N 0072509W - 364555N 0080816W -
365654N 0080816W - 365403N 0075103W - 370924N 0072509W.
ACTIVITY SUBJECT TO COORDINATION WITH FARO TWR.
F) SFC G) 500FT AMSL

A0783/26
AIRSPACE RESERVATION FOR UAV WILL TAKE PLACE IN AREA NAVY 2
BOUNDED BY:
364555N 0072509W - 362027N 0072509W - 362027N 0080816W -
364555N 0080816W - 364555N 0072509W.
ACTIVITY SUBJECT TO COORDINATION WITH FARO TWR.
F) SFC G) 1500FT AMSL

A0785/26
AIRSPACE RESERVATION FOR UAV WILL TAKE PLACE IN AREA NAVY 4
BOUNDED BY:
365929N 0080816W - 364555N 0080816W - 364555N 0090138W - 365655N
0090138W - 370255N 0083903W - 365929N 0080816W.
ACTIVITY SUBJECT TO COORDINATION WITH FARO TWR.
F) SFC G) 500FT AMSL

A0784/26
AIRSPACE RESERVATION FOR UAV WILL TAKE PLACE IN AREA NAVY 3
BOUNDED BY:
364555N 0080816W - 362027N 0080816W - 362027N 0090138W -
364555N 0090138W - 364555N 0080816W.
ACTIVITY SUBJECT TO COORDINATION WITH FARO TWR.
F) SFC G) 1500FT AMSL

A0786/26
AIRSPACE RESERVATION FOR UAV WILL TAKE PLACE IN AREA NAVY 5
BOUNDED BY:
365929N 0080816W - 370629N 0083647W - 370638N 0083749W - 370255N
0083903W - 365929N 0080816W.
ACTIVITY SUBJECT TO COORDINATION WITH FARO TWR.
F) SFC G) 500FT AMSL

A0788/26
AIRSPACE RESERVATION FOR UAV WILL TAKE PLACE IN AREA NAVY 7
BOUNDED BY:
364555N 0090138W - 362027N 0090138W - 362027N 0093614W - 364555N
0093614W - 364555N 0090138W.
ACTIVITY SUBJECT TO COORDINATION WITH FARO TWR.
F) SFC G) 2000FT AMSL

A0787/26
AIRSPACE RESERVATION FOR UAV WILL TAKE PLACE IN AREA NAVY 6
BOUNDED BY:
370904N 0083625W - 370845N 0083530W - 370629N 0083646W - 370638N
0083747W - 370904N 0083625W.
ACTIVITY SUBJECT TO COORDINATION WITH FARO TWR.
F) SFC G) 500FT AMSL

A0789/26
AIRSPACE RESERVATION FOR UAV WILL TAKE PLACE IN AREA NAVY 8
BOUNDED BY:
364555N 0093614W - 371544N 0091332W - 371544N 0085738W - 365655N
0090138W - 364555N 0090138W - 364555N 0093614W.
ACTIVITY SUBJECT TO COORDINATION WITH FARO TWR.
F) SFC G) 2000FT AMSL

A0790/26
AIRSPACE RESERVATION FOR UAV WILL TAKE PLACE IN AREA NAVY 9
BOUNDED BY:
371544N 0091330W - 371544N 0085738W - 372701N 0085138W - 374307N
0084858W - 375143N 0085558W - 375139N 0091302W - 374030N 0085435W
- 371544N 0091330W.
ACTIVITY SUBJECT TO COORDINATION WITH LISBOA INFORMATION.
F) SFC G) 2000FT AMSL

A0791/26
AIRSPACE RESERVATION FOR UAV WILL TAKE PLACE IN AREA NAVY 10
BOUNDED BY:
375138N 0091310W - 375143N 0085558W - 381300N 0085200W - 381000N
0090000W - 375959N 0090000W - 375959N 0091116W - 375138N 0091310W
ACTIVITY SUBJECT TO COORDINATION WITH LISBOA INFORMATION.
F) SFC G) 1500FT AMSL

A0513/26
SR-SS
GLIDER FLYING, PARAGLIDING OR HANG GLIDING WILL TAKE PLACE
ON AREA BOUNDED BY:
393502N 0085208W - 393334N 0084717W - 393208N 0084555W - 392820N
0085326W - 393502N 0085208W- PORTO DE MOS.
F) SFC G) 1000FT AGL

A0537/26
SR-SS
PARAGLIDING WILL TAKE PLACE AREA WI 16KM RADIUS CENTERED ON
412450N 0075920W (MONDIM DE BASTO).
F) GND G) FL050

A0517/26
AIRSPACE RESERVATION FOR UAV ACTIVITY WILL TAKE PLACE AREA EMSA01
BOUNDED BY:
362526N 0072259W - 355800N 0072259W - 355800N 0080816W - 355800N
0090137W - 355800N 0093614W - 362430N 0093612W - 362446N 0090137W
- 362504N 0083558W - 362526N 0072259W.
ACTIVITY SUBJECT TO COORDINATION WITH LISBOA INFORMATION.
F) SFC G) 5000FT AMSL

A0518/26
AIRSPACE RESERVATION FOR UAV ACTIVITY WILL TAKE PLACE ON AREA
EMSA02
AREA BOUNDED BY:
370254N 0083902W - 370235N 0083604W - 362504N 0083558W - 362459N
0084514W - 362446N 0090137W - 363919N 0090137W - 364555N 0090137W
- 365654N 0090138W - 370133N 0084410W - 370254N 0083902W.
ACTIVITY SUBJECT TO COORDINATION WITH FARO TWR.
F) SFC G) 3000FT AMSL

A0523/26
AIRSPACE RESERVATION FOR UAV ACTIVITY WILL TAKE PLACE ON AREA
EMSA03
DEFINED BY:
364555N 0072300W - 362526N 0072259W - 362504N 0083558W - 363532N
0083600W - 364544N 0083601W - 364555N 0080816W - 364555N
0072300W.ACTIVITY SUBJECT TO COORDINATION WITH FARO TWR.
F) SFC G) 1000FT AMSL

A0524/26
AIRSPACE RESERVATION FOR UAV ACTIVITY WILL TAKE PLACE ON AREA
EMSA04
BOUNDED BY:
370924N 0072509W - 370923N 0072300W - 364555N 0072300W - 364555N
0080816W - 364544N 0083601W - 370235N 0083604W - 365929N 0080816W
- 365653N 0080815W - 365402N 0075102W - 370924N 0072509W. ACTIVITY
SUBJECT TO COORDINATION WITH FARO TWR.
F) SFC G) 1000FT AMSL

A0526/26
AIRSPACE RESERVATION FOR UAV ACTIVITY WILL TAKE PLACE ON AREA
EMSA05
BOUNDED BY:
370903N 0083624W - 370844N 0083530W - 370628N 0083646W - 365929N
0080816W - 370235N 0083604W - 370236N 0083615W - 370254N 0083902W
- 370638N 0083749W - 370903N 0083624W.
ACTIVITY SUBJECT TO COORDINATION WITH FARO TWR.
F) SFC G) 750FT AMSL

A0527/26
AIRSPACE RESERVATION FOR UAV ACTIVITY WILL TAKE PLACE ON AREA
EMSA06
BOUNDED BY:
362430N 0093612W - 355800N 0093614W - 355800N 0120000W - 362408N
0115959W - 362430N 0093612W.
ACTIVITY SUBJECT TO COORDINATION WITH LISBOA INFORMATION.
F) SFC G) 5000FT AMSL

A0528/26
AIRSPACE RESERVATION FOR UAV ACTIVITY WILL TAKE PLACE ON AREA
EMSA07
BOUNDED BY:
371558N 0095959W - 362438N 0095940W - 362408N 0115959W - 371543N
0120000W - 371558N 0095959W.
ACTIVITY SUBJECT TO COORDINATION WITH LISBOA INFORMATION.
F) SFC G) 5000FT AMSL

A0529/26
AIRSPACE RESERVATION FOR UAV ACTIVITY WILL TAKE PLACE ON AREA
EMSA08
BOUNDED BY:
375958N 0120000W - 375958N 0100000W - 371558N 0095959W - 371543N
0120000W - 375958N 0120000W.ACTIVITY SUBJECT TO COORDINATION WITH
LISBOA INFORMATION.
F) SFC G) 5000FT AMSL

A0530/26
AIRSPACE RESERVATION FOR UAV ACTIVITY WILL TAKE PLACE ON AREA
EMSA09
BOUNDED BY:
371558N 0095959W - 371543N 0085737W - 365654N 0090137W - 362446N
0090137W - 362430N 0093613W - 362438N 0095940W - 371558N 0095959W.
ACTIVITY SUBJECT TO COORDINATION WITH LISBOA INFORMATION.
F) SFC G) 5000FT AMSL

A0531/26
AIRSPACE RESERVATION FOR UAV ACTIVITY WILL TAKE PLACE ON AREA
EMSA10
BOUNDED BY:
375958N 0100000W - 375958N 0085424W - 375142N 0085558W - 374306N
0084857W - 372701N 0085138W - 371543N 0085737W - 371558N 0095959W
- 375958N 0100000W.
ACTIVITY SUBJECT TO COORDINATION WITH LISBOA INFORMATION.
F) SFC G) 5000FT AMSL

A0532/26
AIRSPACE RESERVATION FOR UAV ACTIVITY WILL TAKE PLACE ON AREA
EMSA11
BOUNDED BY:
370924N 0072509W - 370924N 0073030W - 370235N 0074300W - 365847N
0074300W - 370924N 0072509W.
ACTIVITY SUBJECT TO COORDINATION WITH FARO TWR.
F) SFC G) 1500FT AMSL

A0444/26
SR-SS
PARAGLIDING WILL TAKE PLACE AREA WI 16KM RADIUS CENTERED ON
415249N
0074313W (SERRA DO LAROUCO).
F) GND G) FL080

A6018/25
SR-SS
PARAGLIDING WILL TAKE PLACE AREA 16KM RADIUS CENTRED ON 413532N
0070255W (SERRA DE BORNES).
ACTIVITY SUBJECT TO COORDINATION WITH LISBON INFORMATION.
F) GND G) FL085

A6116/25
DAILY SR-SS
PARAGLIDING WILL TAKE PLACE WI AREA BOUNDED BY:
403152N 0072959W - 403145N 0072052W - 402434N 0072406W - 401507N
0073209W - 401519N 0073651W - 402153N 0073920W - 403152N 0072959W
(SERRA DA ESTRELA).
ACTIVITY SUBJECT TO COORDINATION WITH LISBON INFORMATION.
F) GND G) 1500FT AGL

==========
EXTENDED AREA AROUND DESTINATION
==========

LECM MADRID FIR/UIR

++++++++++++++++++++++++++++ FIR/UIR ++++++++++++++++++++++++++++++

B1937/26
TRIGGER NOTAM - AIP SUP 09/26 WEF 19-FEB-26 TO 26-DEC-26 EST
FIR MADRID - LA COLINA WIND FARM UNDER CONSTRUCTION

B1941/26
TRIGGER NOTAM - AIP SUP 26/26 WEF 19-MAR-26 TO 19-MAR-27 EST
FIR MADRID.- INSTALLATION OF A MEASURING TOWER 'EL HITO'

B1942/26
TRIGGER NOTAM- AIP SUP 28/26 WEF 19-MAR-26 TO 19-FEB-27 EST
FIR MADRID.- SALGUERO WIND FARM UNDER CONSTRUCTION

B1943/26
TRIGGER NOTAM- AIP SUP 29/26 WEF 19-MAR-26 TO 19-MAR-27 EST
FIR MADRID.- INSTALLATION OF A MEASURING TOWER WITHIN SANTA
PATRICIA WIND FARM

B1946/26
TRIGGER NOTAM- AIP SUP 31/26 WEF 19-MAR-26 A 20-FEB-27 EST
FIR MADRID.- MONTE BECERRIL WIND FARM UNDER CONSTRUCTION

B1950/26
TRIGGER NOTAM- AIP SUP 32/26 WEF 19-MAR-26 TO 19-MAR-27 EST
FIR MADRID.- MIRAVETE WIND FARM UNDER CONSTRUCTION

B1957/26
TRIGGER NOTAM- AIP SUP 35/26 WEF 19-MAR-26 TO 19-MAR-27 EST
FIR MADRID.- LOS BALAZOS WIND FARM UNDER CONSTRUCTION

B1958/26
TRIGGER NOTAM- AIP SUP 37/26 WEF 19-MAR-26 TO 19-MAR-27 EST
FIR MADRID.- ESPILO WIND FARM UNDER CONSTRUCTION

B1962/26
TRIGGER NOTAM- AIP SUP 38/26 WEF 19-MAR-26 A 19-MAR-27 EST
FIR MADRID.- MELGUIZAS WIND FARM UNDER CONSTRUCTION

B1966/26
TRIGGER NOTAM- AIP SUP 41/26 WEF 19-MAR-26 TO 19-MAR-27 EST
FIR MADRID - PARRANCANAS WIND FARM UNDER CONSTRUCTION

B1973/26
TRIGGER NOTAM- NOTAM-AIP SUP 46/26 WEF 19-MAR-26 A 19-MAR-27 EST
FIR MADRID.- BLANCO WIND FARM UNDER CONSTRUCTION
B1978/26
TRIGGER NOTAM- AIP SUP 47/26 WEF 19-MAR-26 TO 19-MAR-27 EST
AIS-ESPANA.- MILITARY INVASION OF UKRAINE BY RUSSIAN
FEDERATION
B1992/26
TRIGGER NOTAM - AIP SUP 48/26 WEF 19-MAR-26 TO 19-MAR-27 EST.
FIR MADRID.- ARCE WIND FARM UNDER CONSTRUCTION.
B1996/26
TRIGGER NOTAM - AIP SUP 50/26 WEF 19-MAR-26 TO 20-FEB-27 EST.
FIR MADRID.- LA MOTA WIND FARM UNDER CONSTRUCTION
B1999/26
TRIGGER NOTAM - AIP SUP 53/26 WEF 19-MAR-26 TO 19-MAR-27 EST.
FIR MADRID.- CARRICONDO WIND FARM UNDER CONSTRUCTION
B0936/26
TRIGGER NOTAM - AIRAC AIP SUP 11/26 WEF 19-MAR-26 TO 19-MAR-27 EST
FIR MADRID.- EL CASTILLAR WIND FARM UNDER CONSTRUCTION
B0939/26
TRIGGER NOTAM - AIRAC AIP SUP 12/26 WEF 19-MAR-26 TO 19-MAR-27 EST
FIR MADRID.-LAS TADEAS WIND FARM UNDER CONSTRUCTION
B0938/26
TRIGGER NOTAM - PERM AIRAC AIP AMDT 02/26 WEF 19-MAR-26 DATA-SET.-
- EN-ROUTE DATASET.
- AIRSPACE DATASET.
- PUBLIC AERODROMES/HELIPORTS DATA SETS:
- ALBACETE (LEAB).
- BILBAO (LEBB).
- JEREZ (LEJR).
- LANZAROTE/CESAR MANRIQUE LANZAROTE
(GCRR).
- REUS (LERS).
B0941/26
TRIGGER NOTAM - AIRAC AIP SUP 13/26 WEF 19-MAR-26 TO 19-MAR-27 EST
FIR MADRID.- INSTALLATION OF A MEASURING TOWER WITHIN LOS CANOS
III WIND FARM.
B0949/26
TRIGGER NOTAM - AIRAC AIP SUP 24/26 WEF 19-MAR-26 TO 19-MAR-27 EST
FIR MADRID.- OLERON WIND FARM UNDER CONSTRUCTION
G0024/26
GNSS/GPS MAY BE UNAVAILABLE OR MISLEADING DUE TO INTERFERENCE FM
SFC
UP TO FL660 IN THE AREA DEFINED BY THE FOLLOWING POINTS: 372110N
0050855W, 372110N 0014400W, 355000N 0020600W, 355000N 0043812W,
361227N 0043812W, 362634N 0050116W, 365100N 0050855W, 372110N
0050855W. THE AREA INCLUDE, AMONG OTHER PLACES, MALAGA, ALMERIA
AND THE ALBORAN SEA. REPORT TO ATC IF ANY INTERFERENCE DETECTED
B1332/26
UNTIL 31 MAR 2026 2359 UTC, SPANISH CIVIL AIR OPERATORS ARE
RECOMMENDED TO EXERCISE **CAUTION** AND IMPLEMENT CONTINGENCY PLANNING
WHEN OPERATING AND ROUTING WITHIN:
A) SAN JUAN FIR (TJZS),
B) CURACAO FIR (TNCF) ,
C) PIARCO FIR (TTZP) WEST OF 0570000W,
DUE TO POTENTIAL SPILLOVER RISKS ASSOCIATED WITH THE DEPLOYMENT
AND POSSIBLE USE OF MILITARY ASSETS IN THE REGION

B1330/26
UNTIL 31 MAR 2026 2359 UTC, SPANISH CIVIL AIR OPERATORS ARE RECOMMENDED TO EXERCISE **CAUTION** AND IMPLEMENT CONTINGENCY PLANNING WHEN OPERATING AND ROUTING WITHIN MAIQUETIA FIR (SVZM) DUE TO POTENTIAL RISKS ASSOCIATED WITH THE DEPLOYMENT AND POSSIBLE USE OF MILITARY ASSETS IN THE REGION

B1231/26
MILITARY INVASION OF UKRAINE BY RUSSIAN FEDERATION:
ALL AIRCRAFT OWNED, CHARTERED OR OPERATED OR OTHERWISE CONTROLLED BY CITIZENS OF THE RUSSIAN FEDERATION AND ALL OPERATORS HOLDING AIR OPERATOR CERTIFICATE (AOC) ISSUED BY THE RUSSIAN FEDERATION AUTHORITIES ARE PROHIBITED TO ENTER, EXIT OR OVERFLY SPANISH AIRSPACE EXCEPT HUMANITARIAN, SAR AND LEASED AIRCRAFT ONE-WAY RETURN FLIGHTS WITH THE PERMISSION OF THE APPROPRIATE SPANISH AUTHORITIES AND IN CASE OF EMERGENCY LANDING OR EMERGENCY OVERFLIGHT. REQUESTS FOR HUMANITARIAN FLIGHTS SHALL BE SENT TO THE CONCERNED SPANISH AIRPORT OPERATOR.

B1229/26
IN ACCORDANCE WITH COUNCIL DECISION (CFSP) 2021/908 , PERMISSION TO LAND IN, TAKE-OFF FROM OR OVERFLY THE TERRITORY OF SPAIN SHALL BE DENIED TO ANY AIRCRAFT OPERATED BY BELARUSIAN AIR CARRIERS, INCLUDING AS A MARKETING CARRIER IN CODE-SHARING OR BLOCKED-SPACE ARRANGEMENTS.
PREVIOUS PARAGRAPH SHALL NOT APPLY IN THE CASE OF AN EMERGENCY LANDING OR AN EMERGENCY OVERFLIGHT. SPANISH AUTHORITIES MAY DETERMINE NOT APPLICABILITY OF THE PARAGRAPH ABOVE WHEN A LANDING, TAKE-OFF OR OVERFLIGHT IS REQUIRED FOR HUMANITARIAN PURPOSES OR ANY OTHER PURPOSES.

++++++++++++++++++++++ RESTRICTED AIRSPACE ++++++++++++++++++++++

D1301/26
TEMPO RESTRICTED AREA **ACTIVATED** WI 1500M RADIUS CENTERED ON
COORD: 403700N 0033509W
CIRCUITO DE JARAMA, MADRID
RMK:
IFR TFC WILL NOT BE AFFECTED BY THIS RESTRICTION.
OVERFLIGHT CLEARED ONLY ACFT PROPERLY AUTHORIZED, STATE ACFT, ACFT OF THE FORCES AND CORPS OF SECURITY AND ACFT OF THE EMERGENCY SERVICES. PHONE NUMBER: +34 629 322 718
COORDINATION MAIL: DOTD.ASPA(AT)POLICIA.ES
/SEGURIDADPROTECCIONAEREA(AT)POLICIA.ES
F) SFC G) 00800FT AGL

D1219/26
21-22 0800-1500
PARATRIKE FLIGHT WILL TAKE PLACE WI 200M RADIUS CENTERED ON
COORD: 371217N 0063005W
ALMONTE, HUELVA
F) SFC G) 00200FT AGL

D1320/26
SR-SS
TEMPO SEGREGATED AREA **ACTIVATED** FOR UNMANNED ACFT
FLYING WI COORD: 400446N 0025607W - 395945N 0024437W -
395734N 0024537W - 400240N 0025732W - 400446N 0025607W
TARANCON, CUENCA
RMK:
COORDINATION PHONE NUMBER: +34 948 572 230
+34 669 408 833 / +34 680 836 208 / +34 636 440 147
COORDINATION MAIL: COORDINACIONES(AT)FUVEX.COM
F) SFC G) 00100M AGL

D1239/26
17-20 1200-1330 1500-1900, 25-26 0800-1330 1500-1900, 24 ,
0800-1000 1030-1330 1500-1900
TEMPORARY SEGREGATED AREA FOR UNMANNED ACFT VEHICLE FLYING
ACTIVATED WI 405146N 0032719W, 405146N 0032239W,
404942N 0032239W, 404942N 0032719W, 405146N 0032719W
GUADALAJARA/CASAS DE UCEDA
RMK: THE ACTIVATION/DEACTIVATION OF THIS AREA WILL BE CARRIED OUT
IN REAL TIME BY TACTICAL COORDINATION WITH ECAO (OPERATIVE
AIR TRAFFIC SQUADRON) MADRID, MADRID ACC AND LECV TWR
F) SFC G) 04500FT AMSL

D0756/26
24-26 1000-1500 1700-2100, 17-19 1000-1300
TEMPORARY SEGREGATED AREA FOR UNMANNED AIRCRAFT VEHICLE
FLYING **ACTIVATED** WI 370116N 0022229W, 365812N 0021955W,
365305N 0022149W, 365235N 0022316W, 365350N 0022547W,
370116N 0022229W (LATERAL LIMITS COINCIDENTAL WITH LED36)
ALMERIA/ALVAREZ DE SOTOMAYOR
RMK: THE ACTIVATION/DEACTIVATION OF THIS AREA WILL BE CARRIED OUT
IN REAL TIME BY TACTICAL COORDINATION WITH ECAO (OPERATIVE
AIR TRAFFIC SQUADRON) SEVILLA AND LEAM TWR.
F) SFC G) 04000FT AMSL

D1262/26
SR-SS
TEMPO SEGREGATED AREA **ACTIVATED** FOR UNMANNED ACFT
WI COORD:
405414N 0020451W - 410056N 0021232W - 410445N 0021049W -
410923N 0015859W - 410646N 0014843W - 405803N 0014524W -
405457N 0014551W - 405124N 0014924W - 405605N 0015937W -
405414N 0020451W
TARTANEDO, GUADALAJARA
RMK:
COORDINATION PHONE NUMBER: +34 948 572 230 / +34 680 836 208
COORDINATION MAIL: COORDINACIONES(AT)FUVEX.COM
F) SFC G) 00100M AGL

D1248/26
SR-SS
TSA **ACTIVATED** FOR UNMANNED ACFT WI COORD:
411116N 0023247W
411900N 0022953W
411914N 0022727W
411332N 0022643W
411417N 0021306W
411036N 0021050W
410441N 0021507W
410516N 0022241W
410710N 0023022W
411116N 0023247W.
MEDINACELI, SORIA.
RMK:
COORDINATION PHONE NUMBER: +34 948 572 230 /+34 680 836 208.
CORDINATION MAIL: COORDINACIONES(AT)FUVEX.COM
F) SFC G) 00100M AGL

D1266/26
16-20 23 0800-1400
LED119 **ACTIVATED** FOR AIR OPS
RMK: THE ACTIVATION/DEACTIVATION OF THIS AREA WILL BE CARRIED OUT
IN REAL TIME BY TACTICAL COORDINATION WITH ECAO (OPERATIVE
AIR TRAFFIC SQUADRON) SEVILLA
F) FL245 G) FL600

D1267/26
16 0800-1900, 17-20 23-27 0800-1400
LED120 **ACTIVATED** FOR AIR OPS
RMK: THE ACTIVATION/DEACTIVATION OF THIS AREA WILL BE CARRIED OUT
IN REAL TIME BY TACTICAL COORDINATION WITH ECAO (OPERATIVE
AIR TRAFFIC SQUADRON) SEVILLA
F) SFC G) FL245

D1268/26
16-20 23 0800-1400
AIR EXERCISES WI 365531N 0072129W, 370430N 0070731W,
370537N 0070137W, 365033N 0064303W, 362000N 0072130W,
365531N 0072129W
HUELVA/D-121R ARENOSILLO NORTE INFERIOR OESTE
RMK: THE ACTIVATION/DEACTIVATION OF THIS AREA WILL BE CARRIED OUT
IN REAL TIME BY TACTICAL COORDINATION WITH ECAO (OPERATIVE
AIR TRAFFIC SQUADRON) SEVILLA
F) SFC G) FL245

D1034/26
TEMPO RESTRICTED AREA **ACTIVATED** FOR UNMANNED ACFT
FLYING WI COORD: 385235N 0025341W - 385233N 0024905W -
384859N 0024841W - 384522N 0024847W - 384459N 0024817W -
384447N 0024817W - 384425N 0025210W - 384305N 0025206W -
384431N 0025355W - 385235N 0025341W
VILLAHERMOSA, CIUDAD REAL
RMK:
COORDINATION PHONE NUMBER: +34 680 836 208/ +34 669 408 833
COORDINATION MAIL: COORDINACIONES(AT)FUVEX.COM
F) SFC G) 00100M AGL

D1158/26
SR-SS
TEMPO SEGREGATED AREA **ACTIVATED** WI COORD:
384553N 0031543W - 384451N 0031535W - 384339N 0032341W -
384130N 0032442W - 383822N 0032648W - 383037N 0032905W -
383046N 0033006W - 383426N 0032931W - 383916N 0032811W -
384439N 0032512W - 384553N 0031543W
LOCALIZACION: VALDEPENAS, CIUDAD REAL.
RMK:
COORDINATION PHONE NUMBER: +34 948 572 230/ +34 680 836 208
F) SFC G) 00100M AGL

D1168/26
SR-SS
TEMPO SEGREGATED AREA **ACTIVATED** FOR UNMANNED ACFT WI COORD:
384944N 0032431W - 384945N 0032341W - 384729N 0032328W -
384431N 0032336W - 384433N 0032427W - 384709N 0032459W -
384944N 0032431W
VALDEPENAS, CIUDAD REAL.
RMK:
COORDINATION PHONE NUMBER: +34 948 572 230 / +34 669 408 833
COORDINATION MAIL: COORDINACIONES(AT)FUVEX.COM
F) SFC G) 00100M AGL

D1202/26
SR-SS
TEMPO SEGREGATED AREA **ACTIVATED** WI COORD:
392552N 0041414W
392432N 0041034W
390057N 0040940W
390113N 0041419W
391607N 0042013W
391959N 0041548W
392133N 0041345W
392238N 0041530W
392552N 0041414W
PORZUNA, CIUDAD REAL.
RMK:
COORDINATION PHONE NUMBER: +34 948 572 230 / +34 669 408 833
COORDINATION MAIL: COORDINACIONES(AT)FUVEX.COM
F) SFC G) 00100M AGL

D1118/26
SR-SS
TEMPO SEGREGATED AREA **ACTIVATED** FOR UNMANNED ACFT WI COORD:
390747N 0030202W
391059N 0030604W
391335N 0030805W
391558N 0030830W
391612N 0030718W
391419N 0030208W
390905N 0025939W
390739N 0025925W
390747N 0030202W
TOMELLOSO, CIUDAD REAL
RMK:
CORDINATION PHONE NUMBER: +34 948 572 230 / +34 669 408 833
CORDINATION MAIL: COORDINACIONES(AT)FUVEX.COM
F) SFC G) 00100M AGL

D1138/26
MAR 12 24 28 0000-0600, MAR 23 2000-2359, APR 01-02 0600-1600
TEMPO **DANGER** AREA FOR UNMANNED ACFT **ACTIVATED** FLYING
WI COORD:
363512N 0064303W
363512N 0063942W
363214N 0063848W
362751N 0063443W
361330N 0063800W
361418N 0064302W
363512N 0064303W
AREA 4 GULF OF CADIZ
RMK:
COORDINATION PHONE NUMBER: +33 749960453
OVERFLIGHT CLEARED ONLY ACFT PROPERLY AUTHORIZED, STATE ACFT, ACFT OF THE FORCES AND CORPS OF STATE SECURITY AND ACFT OF THE EMERGENCY SERVICES.
THE ACTIVATION/DEACTIVATION OF THIS AREA WILL BE CARRIED OUT IN REAL TIME BY TACTICAL COORDINATION WITH SEVILLA ACC AND ECAO SEVILLA.
HE ACTIVATION OF THE AREA WILL BE CONDITIONED TO THE ABSENCE OF OTHER COINCIDING **ACTIVE** AREAS NEEDING COORDINATION FOR ITS USE
F) SFC G) 08500FT AMSL

D1139/26
MAR 12 24 28 0000-0600, MAR 23 2000-2359, APR 01-02 0600-1600
TEMPO **DANGER** AREA FOR UNMANNED ACFT **ACTIVATED** FLYING
WI COORD:
365033N 0064303W
364923N 0064303W
364255N 0064559W
363754N 0064305W
361418N 0064302W
362000N 0072130W
365033N 0064303W
AREA 5 GULF OF CADIZ
RMK:
COORDINATION PHONE NUMBER: +33 749960453
OVERFLIGHT CLEARED ONLY ACFT PROPERLY AUTHORIZED, STATE ACFT, ACFT OF THE FORCES AND CORPS OF STATE SECURITY AND ACFT OF THE EMERGENCY SERVICES.
THE ACTIVATION/DEACTIVATION OF THIS AREA WILL BE CARRIED OUT IN REAL TIME BY TACTICAL COORDINATION WITH SEVILLA ACC AND ECAO SEVILLA.
HE ACTIVATION OF THE AREA WILL BE CONDITIONED TO THE ABSENCE OF OTHER COINCIDING **ACTIVE** AREAS NEEDING COORDINATION FOR ITS USE
F) SFC G) 08500FT AMSL

D1141/26
MAR 12 24 28 0000-0600, MAR 23 2000-2359, APR 01-02 0600-1600
TEMPO **DANGER** AREA FOR UNMANNED ACFT **ACTIVATED** FLYING
WI COORD:
362751N 0063442W
362556N 0063205W
360412N 0061551W
360000N 0060738W
360000N 0062132W
355846N 0062149W
355849N 0064103W
361330N 0063800W
362751N 0063442W
AREA 7 GULF OF CADIZ
RMK:
COORDINATION PHONE NUMBER: +33 749960453
OVERFLIGHT CLEARED ONLY ACFT PROPERLY AUTHORIZED, STATE ACFT, ACFT OF THE FORCES AND CORPS OF STATE SECURITY AND ACFT OF THE EMERGENCY SERVICES.
THE ACTIVATION/DEACTIVATION OF THIS AREA WILL BE CARRIED OUT IN REAL TIME BY TACTICAL COORDINATION WITH SEVILLA ACC AND ECAO SEVILLA.
HE ACTIVATION OF THE AREA WILL BE CONDITIONED TO THE ABSENCE OF OTHER COINCIDING **ACTIVE** AREAS NEEDING COORDINATION FOR ITS USE
F) SFC G) 05500FT AMSL

D1037/26
11-12 18-19 25-26 1400-2000
TEMPORARY SEGREGATED AREA FOR UNMANNED AIRCRAFT VEHICLE FLYING **ACTIVATED** WI 362723N 0061740W, 362826N 0061512W, 362818N 0061358W, 362712N 0061322W, 362639N 0061335W, 362624N 0061334W, 362547N 0061412W, 362441N 0061603W, 362723N 0061740W EXC LED90B/C WHEN ACT
CADIZ/POLIGONO L/R
RMK: THE ACTIVATION/DEACTIVATION OF THIS AREA WILL BE CARRIED OUT IN REAL TIME BY TACTICAL COORDINATION WITH ECAO (OPERATIVE AIR TRAFFIC SQUADRON) SEVILLA.
F) SFC G) 05000FT AMSL

D1039/26
11-12 18-19 25-26 1400-2000
TEMPORARY SEGREGATED AREA FOR UNMANNED AIRCRAFT
VEHICLE FLYING **ACTIVATED** WI 360224N 0062329W, 362855N 0061710W,
362821N 0061328W, 362621N 0061345W, 362314N 0061232W,
361814N 0060854W, 361055N 0060149W, 360837N 0055733W,
360421N 0055218W, 360220N 0055231W, 360224N 0062329W
EXC LED90B/C, LETR2 AND LETS34 WHEN ACT
CADIZ/POLIGONO CHARLIE
RMK: THE ACTIVATION/DEACTIVATION OF THIS AREA WILL BE CARRIED OUT
IN REAL TIME BY TACTICAL COORDINATION WITH ECAO (OPERATIVE
AIR TRAFFIC SQUADRON) SEVILLA.
F) SFC G) 05000FT AMSL

D1043/26
11-12 18-19 25-26 1400-2000
TEMPORARY SEGREGATED AREA FOR UNMANNED AIRCRAFT
VEHICLE FLYING **ACTIVATED** WI 361152N 0062130W, 361152N 0060315W,
360227N 0053943W, 355626N 0053943W, 355622N 0055917W,
355000N 0060533W, 355000N 0070707W, 355945N 0070707W,
360020N 0064156W, 360433N 0064055W, 360439N 0062300W,
361152N 0062130W EXC LETR2, LETS34, LED90A/B AND LED122 WHEN ACT
CADIZ/POLIGONO DELTA
RMK: THE ACTIVATION/DEACTIVATION OF THIS AREA WILL BE CARRIED OUT
IN REAL TIME BY TACTICAL COORDINATION WITH ECAO (OPERATIVE
AIR TRAFFIC SQUADRON) SEVILLA.
F) SFC G) 05000FT AMSL

D1047/26
11-12 18-19 25-26 1400-2000
TEMPORARY SEGREGATED AREA FOR UNMANNED AIRCRAFT
VEHICLE FLYING **ACTIVATED** WI 361643N 0055250W,
361720N 0055157W, 361252N 0054317W, 361148N 0054227W,
360912N 0054822W, 360730N 0055008W, 360304N 0055252W,
360201N 0055403W, 360759N 0060043W, 360905N 0055937W,
360918N 0055855W, 361132N 0055521W, 361341N 0055520W,
361643N 0055250W
CADIZ/POLIGONO RETIN
RMK: THE ACTIVATION/DEACTIVATION OF THIS AREA WILL BE CARRIED OUT
IN REAL TIME BY TACTICAL COORDINATION WITH ECAO (OPERATIVE
AIR TRAFFIC SQUADRON) SEVILLA.
F) SFC G) 05000FT AMSL

D0709/26
11 0900-1600, 25 1000-1900
LED7 ACT FOR REAL FRNG EXER.
UPPER VERTICAL LIMIT MODIFIED
RMK: THE AREA WILL BE TREATED AS TSA
RMK: THE ACTIVATION/DEACTIVATION OF THIS AREA WILL BE CARRIED OUT
IN REAL TIME BY TACTICAL COORDINATION WITH ECAO (OPERATIVE
AIR TRAFFIC SQUADRON) MADRID
F) SFC G) 10000FT AMSL

D0939/26
10-12 2140-2359, 17-19 24-26 2000-2359, 31 1100-2359
LED129 **ACTIVATED** FOR AIR OPS
UPPER VERTICAL LIMIT MODIFIED
RMK: THE ACTIVATION/DEACTIVATION OF THIS AREA WILL BE CARRIED OUT
IN REAL TIME BY TACTICAL COORDINATION WITH ECAO (OPERATIVE
AIR TRAFFIC SQUADRON) SEVILLA
F) SFC G) 03000FT AMSL

D0938/26
10-12 2100-2359, 17-19 24-26 2000-2359, 31 1100-2359
AIR EXERCISES WI 363555N 0064302W, 363451N 0063304W,
361318N 0063800W, 361418N 0064302W, 363555N 0064302W
HUELVA/D-128 REDUCIDA
RMK: THE ACTIVATION/DEACTIVATION OF THIS AREA WILL BE CARRIED OUT
IN REAL TIME BY TACTICAL COORDINATION WITH ECAO (OPERATIVE
AIR TRAFFIC SQUADRON) SEVILLA
F) SFC G) 03000FT AMSL

D0925/26
10-12 24-26 31 2000-2359
LED90A **ACTIVATED** FOR AIR OPS
UPPER VERTICAL LIMIT MODIFIED
RMK: THE ACTIVATION/DEACTIVATION OF THIS AREA WILL BE CARRIED OUT
IN REAL TIME BY TACTICAL COORDINATION WITH ECAO (OPERATIVE
AIR TRAFFIC SQUADRON) SEVILLA
F) SFC G) 03000FT AMSL

D1093/26
MAR 10 2000-2359, MAR 11 0000-0600 2030-2359, MAR 12 0000-0600,
MAR 16 0700-1700, MAR 24 0000-0600, MAR 26 2000-2359, MAR 27 ,
0000-0600 2000-2359, MAR 28 0000-0600, APR 01 0600-1600, APR 02 ,
0600-1600
TEMPO SEGREGATED AREA **ACTIVATED** FOR UNMANNED ACFT FLYING
WI COORD: 370901N 0064500W - 365650N 0063410W -
365033N 0064303W - 370536N 0070137W - 370719N 0065337W -
370901N 0064500W
AREA 1 GULF OF CADIZ
RMK:
COORDINATION PHONE NUMBER: +33 749960453
OVERFLIGHT CLEARED ONLY ACFT PROPERLY AUTHORIZED, STATE ACFT, ACFT
OF THE FORCES AND CORPS OF STATE SECURITY AND ACFT OF THE
EMERGENCY SERVICES.
THE ACTIVATION/DEACTIVATION OF THIS AREA WILL BE CARRIED OUT
IN REAL TIME BY TACTICAL COORDINATION WITH SEVILLA ACC AND ECAO
SEVILLA.
THE ACTIVATION OF THE AREA WILL BE CONDITIONED TO THE ABSENCE OF
OTHER COINCIDING **ACTIVE** AREAS NEEDING COORDINATION FOR ITS USE
F) SFC G) 08500FT AMSL

D1103/26
MAR 10 2000-2359, MAR 11 0000-0600 2000-2359, MAR 12 24 28 ,
0000-0600, MAR 16-17 20 0700-1700, MAR 23 26 2000-2359, MAR 27 ,
0000-0600 2000-2359, APR 01-02 0600-1600
TEMPO SEGREGATED AREA **ACTIVATED** FOR UNMANNED ACFT FLYING
WI COORD: WI COORD: 370044N 0063520W - 365745N 0063027W -
365542N 0062832W - 365338N 0062637W - 365209N 0062551W -
365040N 0062505W - 364811N 0062352W - 364651N 0062344W -
364619N 0062337W - 364606N 0062451W - 364549N 0062621W -
365158N 0062938W - 365400N 0063132W - 365601N 0063327W -
370008N 0063706W - 370044N 0063520W
AREA 1A GOLFO DE CADIZ
RMK:
COORDINATION PHONE NUMBER: +33 749960453
OVERFLIGHT CLEARED ONLY ACFT PROPERLY AUTHORIZED, STATE ACFT, ACFT
OF THE FORCES AND CORPS OF STATE SECURITY AND ACFT OF THE
EMERGENCY SERVICES.
THE ACTIVATION/DEACTIVATION OF THIS AREA WILL BE CARRIED OUT
IN REAL TIME BY TACTICAL COORDINATION WITH SEVILLA ACC AND ECAO
SEVILLA.
THE ACTIVATION OF THE AREA WILL BE CONDITIONED TO THE ABSENCE OF
OTHER COINCIDING **ACTIVE** AREAS NEEDING COORDINATION FOR ITS USE
F) SFC G) 01500FT AMSL

D1104/26
MAR 10 2000-2359, MAR 11 0000-0600 2000-2359, MAR 12 24 28 ,
0000-0600, MAR 16-17 20 0700-1700, MAR 23 26 2000-2359, MAR 27 ,
0000-0600 2000-2359, APR 01-02 0600-1600
TEMPO SEGREGATED AREA **ACTIVATED** FOR UNMANNED ACFT FLYING
WI COORD: 370913N 0065724W - 370719N 0065337W -
370536N 0070137W - 370229N 0072130W - 365808N 0072129W -
365758N 0072258W - 370652N 0072259W - 370913N 0065724W
AREA 2 GULF OF CADIZ
RMK:
COORDINATION PHONE NUMBER: +33 749960453
OVERFLIGHT CLEARED ONLY ACFT PROPERLY AUTHORIZED, STATE ACFT, ACFT
OF THE FORCES AND CORPS OF STATE SECURITY AND ACFT OF THE
EMERGENCY SERVICES.
THE ACTIVATION/DEACTIVATION OF THIS AREA WILL BE CARRIED OUT
IN REAL TIME BY TACTICAL COORDINATION WITH SEVILLA ACC AND ECAO
SEVILLA.
THE ACTIVATION OF THE AREA WILL BE CONDITIONED TO THE ABSENCE OF
OTHER COINCIDING **ACTIVE** AREAS NEEDING COORDINATION FOR ITS USE
F) SFC G) 08500FT AMSL

D1108/26
MAR 10 2000-2359, MAR 11 0000-0600 2000-2359, MAR 12 24 28 ,
0000-0600, MAR 23 26 2000-2359, APR 01-02 0600-1600
TEMPO SEGREGATED AREA **ACTIVATED** FOR UNMANNED ACFT
FLYING WI COORD: 362326N 0062706W - 362234N 0062038W -
362413N 0061359W - 361051N 0060453W - 360000N 0060000W -
360000N 0060738W - 360412N 0061551W - 362556N 0063205W -
362326N 0062706W
AREA 9 GULF OF CADIZ
RMK:
COORDINATION PHONE NUMBER: +33 749960453
OVERFLIGHT CLEARED ONLY ACFT PROPERLY AUTHORIZED, STATE ACFT, ACFT
OF THE FORCES AND CORPS OF STATE SECURITY AND ACFT OF THE
EMERGENCY SERVICES.
THE ACTIVATION/DEACTIVATION OF THIS AREA WILL BE CARRIED OUT
IN REAL TIME BY TACTICAL COORDINATION WITH SEVILLA ACC AND ECAO
SEVILLA.
THE ACTIVATION OF THE AREA WILL BE CONDITIONED TO THE ABSENCE OF
OTHER COINCIDING **ACTIVE** AREAS NEEDING COORDINATION FOR ITS USE
F) SFC G) 05500FT AMSL

D1109/26
MAR 10 2000-2359, MAR 11 0000-0600 2000-2359, MAR 12 24 28 ,
0000-0600, MAR 23 26 2000-2359, MAR 27 0000-0600 2000-2359, MAR ,
16-17 20 0700-1700, APR 01-02 0600-1600
TEMPO SEGREGATED AREA **ACTIVATED** FOR UNMANNED ACFT
FLYING WI COOOD
360000N 0060738W
360000N 0060000W
360000N 0053941W
355400N 0053748W
355401N 0060854W
355809N 0060402W
360000N 0060738W
AREA 9 GULF OF CADIZ
RMK:
COORDINATION PHONE NUMBER: +33 749960453
OVERFLIGHT CLEARED ONLY ACFT PROPERLY AUTHORIZED, STATE ACFT, ACFT
OF THE FORCES AND CORPS OF STATE SECURITY AND ACFT OF THE
EMERGENCY SERVICES.
THE ACTIVATION/DEACTIVATION OF THIS AREA WILL BE CARRIED OUT
IN REAL TIME BY TACTICAL COORDINATION WITH SEVILLA ACC AND ECAO
SEVILLA.
THE ACTIVATION OF THE AREA WILL BE CONDITIONED TO THE ABSENCE OF
OTHER COINCIDING **ACTIVE** AREAS NEEDING COORDINATION FOR ITS USE
F) SFC G) 04500FT AMSL

D1114/26
MAR 10 2000-2359, MAR 11 0000-0600 2000-2359, MAR 12 24 28 ,
0000-0600, MAR 23 26 2000-2359, MAR 27 0000-0600 2000-2359, MAR ,
16-17 20 0700-1700, APR 01-02 0600-1600
TEMPO SEGREGATED AREA **ACTIVATED** FOR UNMANNED ACFT
FLYING WI COOOD
371152N 0070615W
371143N 0070147W
370913N 0065724W
370652N 0072259W
370849N 0072259W
371001N 0072044W
371131N 0071634W
371142N 0071237W
371152N 0070615W
AREA 11 GULF OF CADIZ
RMK:
COORDINATION PHONE NUMBER: +33 749960453
OVERFLIGHT CLEARED ONLY ACFT PROPERLY AUTHORIZED, STATE ACFT, ACFT
OF THE FORCES AND CORPS OF STATE SECURITY AND ACFT OF THE
EMERGENCY SERVICES.
THE ACTIVATION/DEACTIVATION OF THIS AREA WILL BE CARRIED OUT
IN REAL TIME BY TACTICAL COORDINATION WITH SEVILLA ACC AND ECAO
SEVILLA.
THE ACTIVATION OF THE AREA WILL BE CONDITIONED TO THE ABSENCE OF
OTHER COINCIDING **ACTIVE** AREAS NEEDING COORDINATION FOR ITS USE
F) SFC G) 02000FT AMSL

D1116/26
MAR 10 2000-2359, MAR 11 0000-0600 2000-2359, MAR 12 24 28 ,
0000-0600, MAR 23 26 2000-2359, MAR 27 0000-0600 2000-2359, MAR ,
16-17 20 0700-1700, APR 01-02 0600-1600
TEMPO SEGREGATED AREA **ACTIVATED** FOR UNMANNED ACFT
FLYING WI COOOD
365650N 0063410W
365601N 0063327W
364923N 0064303W
365033N 0064303W
365650N 0063410W
CORRIDOR C GULF OF CADIZ
RMK:
COORDINATION PHONE NUMBER: +33 749960453
OVERFLIGHT CLEARED ONLY ACFT PROPERLY AUTHORIZED, STATE ACFT, ACFT
OF THE FORCES AND CORPS OF STATE SECURITY AND ACFT OF THE
EMERGENCY SERVICES.
THE ACTIVATION/DEACTIVATION OF THIS AREA WILL BE CARRIED OUT
IN REAL TIME BY TACTICAL COORDINATION WITH SEVILLA ACC AND ECAO
SEVILLA.
THE ACTIVATION OF THE AREA WILL BE CONDITIONED TO THE ABSENCE OF
OTHER COINCIDING **ACTIVE** AREAS NEEDING COORDINATION FOR ITS USE
F) SFC G) 02000FT AMSL

D1120/26
MAR 10 2000-2359, MAR 11 0000-0600 2000-2359, MAR 12 24 28 ,
0000-0600, MAR 23 26 2000-2359, MAR 27 0000-0600 2000-2359, MAR ,
16-17 20 0700-1700, APR 01-02 0600-1600
TEMPO SEGREGATED AREA **ACTIVATED** FOR UNMANNED ACFT
FLYING WI COOOD
371546N 0060100W
370304N 0060100W
365413N 0060626W
364725N 0062347W
364726N 0062348W
364811N 0062352W
365040N 0062505W
365209N 0062551W
365338N 0062637W
365542N 0062832W
365543N 0062833W
365805N 0061705W
370625N 0061059W
371428N 0061102W
371546N 0060100W
AREA 12 GUADALQUIVIR GOLFO DE CADIZ
RMK:
COORDINATION PHONE NUMBER: +33 749960453
OVERFLIGHT CLEARED ONLY ACFT PROPERLY AUTHORIZED, STATE ACFT, ACFT
OF THE FORCES AND CORPS OF STATE SECURITY AND ACFT OF THE
EMERGENCY SERVICES.
THE ACTIVATION/DEACTIVATION OF THIS AREA WILL BE CARRIED OUT
IN REAL TIME BY TACTICAL COORDINATION WITH SEVILLA ACC AND ECAO
SEVILLA.
THE ACTIVATION OF THE AREA WILL BE CONDITIONED TO THE ABSENCE OF
OTHER COINCIDING **ACTIVE** AREAS NEEDING COORDINATION FOR ITS USE
F) SFC G) 01000FT AMSL

D1123/26
MAR 10 2000-2359, MAR 11 0000-0600 2000-2359, MAR 12 24 28 ,
0000-0600, MAR 23 26 2000-2359, MAR 27 0000-0600 2000-2359
TEMPO SEGREGATED AREA **ACTIVATED** FOR UNMANNED ACFT FLYING
WI COORD WI COORD:
360000N 0052813W
355959N 0050417W
355001N 0050103W
355001N 0051513W
355532N 0051531W
355654N 0052854W
355401N 0053755W
355713N 0053850W
360000N 0052813W
AREA R-12 MAR DE ALBORAN
RMK:
COORDINATION PHONE NUMBER: +33 749960453
OVERFLIGHT CLEARED ONLY ACFT PROPERLY AUTHORIZED, STATE ACFT, ACFT
OF THE FORCES AND CORPS OF STATE SECURITY AND ACFT OF THE
EMERGENCY SERVICES.
THE ACTIVATION/DEACTIVATION OF THIS AREA WILL BE CARRIED OUT
IN REAL TIME BY TACTICAL COORDINATION WITH SEVILLA ACC AND ECAO
SEVILLA.
THE ACTIVATION OF THE AREA WILL BE CONDITIONED TO THE ABSENCE OF
OTHER COINCIDING **ACTIVE** AREAS NEEDING COORDINATION FOR ITS USE
F) SFC G) 04500FT AMSL

D1127/26
MAR 10 2000-2359, MAR 11 0000-0600 2000-2359, MAR 12 24 28 ,
0000-0600, MAR 23 26 2000-2359, MAR 27 0000-0600 2000-2359, APR ,
01-02 0600-1600
TEMPO **DANGER** AREA FOR UNMANNED ACFT **ACTIVATED** FLYING
WI COORD:
365942N 0070628W
365033N 0064303W
362000N 0072130W
365808N 0072129W
365942N 0070628W
AREA 3B GULF OF CADIZ
RMK:
COORDINATION PHONE NUMBER: +33 749960453
OVERFLIGHT CLEARED ONLY ACFT PROPERLY AUTHORIZED, STATE ACFT, ACFT
OF THE FORCES AND CORPS OF STATE SECURITY AND ACFT OF THE
EMERGENCY SERVICES.
THE ACTIVATION/DEACTIVATION OF THIS AREA WILL BE CARRIED OUT
IN REAL TIME BY TACTICAL COORDINATION WITH SEVILLA ACC AND ECAO
SEVILLA.
HE ACTIVATION OF THE AREA WILL BE CONDITIONED TO THE ABSENCE OF
OTHER COINCIDING **ACTIVE** AREAS NEEDING COORDINATION FOR ITS USE
F) SFC G) 08500FT AMSL

D1140/26
MAR 10 23 26 2000-2359, MAR 11 27 0000-0600 2000-2359, MAR 12 24 ,
28 0000-0600, MAR 16-17 0700-1700, APR 01-02 0600-1600
TEMPO **DANGER** AREA FOR UNMANNED ACFT **ACTIVATED** FLYING
WI COORD:
362007N 0072303W
362000N 0072130W
361418N 0064302W
361330N 0063800W
355359N 0064203W
355400N 0072301W
362007N 0072303W.
AREA 6 GULF OF CADIZ.
RMK:
COORDINATION PHONE NUMBER: +33 749960453
OVERFLIGHT CLEARED ONLY ACFT PROPERLY AUTHORIZED, STATE ACFT, ACFT
OF THE FORCES AND CORPS OF STATE SECURITY AND ACFT OF THE
EMERGENCY SERVICES.
THE ACTIVATION/DEACTIVATION OF THIS AREA WILL BE CARRIED OUT
IN REAL TIME BY TACTICAL COORDINATION WITH SEVILLA ACC AND ECAO
SEVILLA.
HE ACTIVATION OF THE AREA WILL BE CONDITIONED TO THE ABSENCE OF
OTHER COINCIDING **ACTIVE** AREAS NEEDING COORDINATION FOR ITS USE
F) SFC G) 08500FT AMSL

D1144/26
MAR 10 2000-2359, MAR 11 0000-0600 2000-2359, MAR 12 24 28 ,
0000-0600, MAR 16-17 20 0700-1700, MAR 23 26 2000-2359, MAR 27 ,
0000-0600 2000-2359, APR 01-02 0600-1600
TEMPO **DANGER** AREA FOR UNMANNED ACFT **ACTIVATED**
WI COORD 360000N 0062131W - 360000N 0060738W -
355808N 0060401W - 355400N 0060854W - 355400N 0064203W -
355849N 0064103W - 355846N 0062149W - 360000N 0062131W
AREA 8 GULF OF CADIZ
RMK:
COORDINATION PHONE NUMBER: +33 749960453
OVERFLIGHT CLEARED ONLY ACFT PROPERLY AUTHORIZED, STATE ACFT, ACFT
OF THE FORCES AND CORPS OF STATE SECURITY AND ACFT OF THE
EMERGENCY SERVICES.
THE ACTIVATION/DEACTIVATION OF THIS AREA WILL BE CARRIED OUT
IN REAL TIME BY TACTICAL COORDINATION WITH SEVILLA ACC AND ECAO
SEVILLA.
THE ACTIVATION OF THE AREA WILL BE CONDITIONED TO THE ABSENCE OF
OTHER COINCIDING **ACTIVE** AREAS NEEDING COORDINATION FOR ITS USE
F) SFC G) 04500FT AMSL

D1145/26
MAR 10 2000-2359, MAR 11 0000-0600 2000-2359, MAR 12 24 28 ,
0000-0600, MAR 16-17 20 0700-1700, MAR 23 26 2000-2359, MAR 27 ,
0000-0600 2000-2359, APR 01-02 0600-1600
TEMPO **DANGER** AREA FOR UNMANNED ACFT **ACTIVATED**
WI COORD 365758N 0072258W - 365808N 0072129W -
362000N 0072130W - 362007N 0072303W - 365758N 0072258W
CORRIDOR B GULF OF CADIZ
RMK:
COORDINATION PHONE NUMBER: +33 749960453
OVERFLIGHT CLEARED ONLY ACFT PROPERLY AUTHORIZED, STATE ACFT, ACFT
OF THE FORCES AND CORPS OF STATE SECURITY AND ACFT OF THE
EMERGENCY SERVICES.
THE ACTIVATION/DEACTIVATION OF THIS AREA WILL BE CARRIED OUT
IN REAL TIME BY TACTICAL COORDINATION WITH SEVILLA ACC AND ECAO
SEVILLA.
THE ACTIVATION OF THE AREA WILL BE CONDITIONED TO THE ABSENCE OF
OTHER COINCIDING **ACTIVE** AREAS NEEDING COORDINATION FOR ITS USE
F) SFC G) 08500FT AMSL

D1147/26
MAR 10 2000-2359, MAR 11 0000-0600 2000-2359, MAR 12 24 ,
0000-0600, MAR 23 26 2000-2359, MAR 27 0000-0600 2000-2359, MAR 28
, 0000-0600
TEMPO **DANGER** AREA FOR UNMANNED ACFT **ACTIVATED**
WI COORD 361622N 0045006W - 355959N 0045001W -
355959N 0050417W - 360615N 0050620W - 361432N 0050039W -
361607N 0045504W - 361622N 0045006W
AREA R-14B MAR DE ALBORAN
RMK:
COORDINATION PHONE NUMBER: +33 749960453
OVERFLIGHT CLEARED ONLY ACFT PROPERLY AUTHORIZED, STATE ACFT, ACFT
OF THE FORCES AND CORPS OF STATE SECURITY AND ACFT OF THE
EMERGENCY SERVICES.
THE ACTIVATION/DEACTIVATION OF THIS AREA WILL BE CARRIED OUT
IN REAL TIME BY TACTICAL COORDINATION WITH SEVILLA ACC AND ECAO
SEVILLA.
THE ACTIVATION OF THE AREA WILL BE CONDITIONED TO THE ABSENCE OF
OTHER COINCIDING **ACTIVE** AREAS NEEDING COORDINATION FOR ITS USE
F) SFC G) 01500FT AMSL

D1148/26
MAR 10 2000-2359, MAR 11 0000-0600 2000-2359, MAR 12 24 ,
0000-0600, MAR 23 26 2000-2359, MAR 27 0000-0600 2000-2359, MAR 28
, 0000-0600
TEMPO **DANGER** AREA FOR UNMANNED ACFT **ACTIVATED**
WI COORD 355959N 0050417W - 355959N 0044641W -
355001N 0045358W - 355001N 0050103W - 355959N 0050417W
AREA D-13 MAR DE ALBORAN
RMK:
COORDINATION PHONE NUMBER: +33 749960453
OVERFLIGHT CLEARED ONLY ACFT PROPERLY AUTHORIZED, STATE ACFT, ACFT
OF THE FORCES AND CORPS OF STATE SECURITY AND ACFT OF THE
EMERGENCY SERVICES.
THE ACTIVATION/DEACTIVATION OF THIS AREA WILL BE CARRIED OUT
IN REAL TIME BY TACTICAL COORDINATION WITH SEVILLA ACC AND ECAO
SEVILLA.
THE ACTIVATION OF THE AREA WILL BE CONDITIONED TO THE ABSENCE OF
OTHER COINCIDING **ACTIVE** AREAS NEEDING COORDINATION FOR ITS USE
F) SFC G) 04500FT AMSL

D1150/26
MAR 10 2000-2359, MAR 11 0000-0600 2000-2359, MAR 12 24 ,
0000-0600, MAR 23 26 2000-2359, MAR 27 0000-0600 2000-2359, MAR 28
, 0000-0600
TEMPO **DANGER** AREA FOR UNMANNED ACFT **ACTIVATED**
WI COORD WI COORD 361152N 0043758W - 361049N 0040142W -
355035N 0034214W - 355001N 0045359W - 361152N 0043758W
AREA D-17 MAR DE ALBORAN
RMK:
COORDINATION PHONE NUMBER: +33 749960453
OVERFLIGHT CLEARED ONLY ACFT PROPERLY AUTHORIZED, STATE ACFT, ACFT
OF THE FORCES AND CORPS OF STATE SECURITY AND ACFT OF THE
EMERGENCY SERVICES.
THE ACTIVATION/DEACTIVATION OF THIS AREA WILL BE CARRIED OUT
IN REAL TIME BY TACTICAL COORDINATION WITH SEVILLA ACC AND ECAO
SEVILLA.
THE ACTIVATION OF THE AREA WILL BE CONDITIONED TO THE ABSENCE OF
OTHER COINCIDING **ACTIVE** AREAS NEEDING COORDINATION FOR ITS USE
F) SFC G) 04500FT AMSL

D1151/26
MAR 10 2000-2359, MAR 11 0000-0600 2000-2359, MAR 12 24 ,
0000-0600, MAR 23 26 2000-2359, MAR 27 0000-0600 2000-2359, MAR 28
, 0000-0600
TEMPO **DANGER** AREA FOR UNMANNED ACFT **ACTIVATED**
WI COORD 361949N 0045007W - 361226N 0043807W -
361152N 0043758W - 355959N 0044641W - 355959N 0045001W -
361949N 0045007W
AREA D-15 MAR DE ALBORAN
RMK:
COORDINATION PHONE NUMBER: +33 749960453
OVERFLIGHT CLEARED ONLY ACFT PROPERLY AUTHORIZED, STATE ACFT, ACFT
OF THE FORCES AND CORPS OF STATE SECURITY AND ACFT OF THE
EMERGENCY SERVICES.
THE ACTIVATION/DEACTIVATION OF THIS AREA WILL BE CARRIED OUT
IN REAL TIME BY TACTICAL COORDINATION WITH SEVILLA ACC AND ECAO
SEVILLA.
THE ACTIVATION OF THE AREA WILL BE CONDITIONED TO THE ABSENCE OF
OTHER COINCIDING **ACTIVE** AREAS NEEDING COORDINATION FOR ITS USE
F) SFC G) 03350FT AMSL

D1165/26
MAR 10 2000-2359, MAR 11 0000-0600 2000-2359, MAR 12 24 28 ,
0000-0600, MAR 23 26 2000-2359, MAR 27 0000-0600 2000-2359, APR ,
01-02 0600-1600
TEMPO SEGREGATED AREA **ACTIVATED** FOR UNMANNED ACFT FLYING
WI COORD: 370536N 0070137W - 365033N 0064303W -
365942N 0070628W - 365808N 0072129W - 370229N 0072130W -
370536N 0070137W
AREA 3A GULF OF CADIZ
RMK:
COORDINATION PHONE NUMBER: +33 749960453
OVERFLIGHT CLEARED ONLY ACFT PROPERLY AUTHORIZED, STATE ACFT, ACFT
OF THE FORCES AND CORPS OF STATE SECURITY AND ACFT OF THE
EMERGENCY SERVICES.
THE ACTIVATION/DEACTIVATION OF THIS AREA WILL BE CARRIED OUT
IN REAL TIME BY TACTICAL COORDINATION WITH SEVILLA ACC AND ECAO
SEVILLA.
THE ACTIVATION OF THE AREA WILL BE CONDITIONED TO THE ABSENCE OF
OTHER COINCIDING **ACTIVE** AREAS NEEDING COORDINATION FOR ITS USE
F) SFC G) 08500FT AMSL

D1169/26
MAR 10 2000-2359, MAR 11 0000-0600 2000-2359, MAR 12 24 28 ,
0000-0600, MAR 23 26 2000-2359, MAR 27 0000-0600 2000-2359
TEMPO SEGREGATED AREA **ACTIVATED** FOR UNMANNED ACFT
FLYING WI COORD:
362633N 0050109W
361949N 0045007W
361622N 0045006W
361607N 0045504W
361432N 0050039W
360615N 0050620W
355959N 0050417W
355959N 0051003W
360610N 0051617W
361039N 0051613W
362518N 0050446W
362633N 0050109W
AREA R-14A MAR DE ALBORAN
RMK:
COORDINATION PHONE NUMBER: +33 749960453
OVERFLIGHT CLEARED ONLY ACFT PROPERLY AUTHORIZED, STATE ACFT, ACFT
OF THE FORCES AND CORPS OF STATE SECURITY AND ACFT OF THE
EMERGENCY SERVICES.
THE ACTIVATION/DEACTIVATION OF THIS AREA WILL BE CARRIED OUT
IN REAL TIME BY TACTICAL COORDINATION WITH SEVILLA ACC AND ECAO
SEVILLA.
THE ACTIVATION OF THE AREA WILL BE CONDITIONED TO THE ABSENCE OF
OTHER COINCIDING **ACTIVE** AREAS NEEDING COORDINATION FOR ITS USE
F) SFC G) 01500FT AMSL

D0936/26
10-12 24-26 31 1700-2359
LED90B **ACTIVATED** FOR AIR OPS
UPPER VERTICAL LIMIT MODIFIED
RMK: THE ACTIVATION/DEACTIVATION OF THIS AREA WILL BE CARRIED OUT
IN REAL TIME BY TACTICAL COORDINATION WITH ECAO (OPERATIVE
AIR TRAFFIC SQUADRON) SEVILLA
F) SFC G) 03000FT AMSL

D0937/26
10 24 1700-2359, 11-12 25-26 31 2000-2359
LED90C **ACTIVATED** FOR AIR OPS
UPPER VERTICAL LIMIT MODIFIED
RMK: THE ACTIVATION/DEACTIVATION OF THIS AREA WILL BE CARRIED OUT
IN REAL TIME BY TACTICAL COORDINATION WITH ECAO (OPERATIVE
AIR TRAFFIC SQUADRON) SEVILLA
F) SFC G) 03000FT AMSL

D1130/26
0700-1900
LED14 **ACTIVATED** FOR REAL GUN FIRING
UPPER VERTICAL LIMIT MODIFIED
RMK: THE AREA WILL BE TREATED AS TSA.
THE ACTIVATION/DEACTIVATION OF THIS AREA WILL BE CARRIED OUT
IN REAL TIME BY TACTICAL COORDINATION WITH ECAO (OPERATIVE
AIR TRAFFIC SQUADRON) MADRID.
F) SFC G) 10000FT AMSL

D1087/26
09-13 16-20 23-27 0830-1400
TEMPORARY SEGREGATED AREA FOR UNMANNED AIRCRAFT VEHICLES
FLYING **ACTIVATED** WI 424000N 0055050W, 425113N 0054146W,
425117N 0060432W, 424704N 0061449W, 423959N 0061439W,
424000N 0055050W
LEON/GROSA-HOLDING ZONE
RMK: THE ACTIVATION/DEACTIVATION OF THIS AREA WILL BE CARRIED OUT
IN REAL TIME BY TACTICAL COORDINATION WITH LEON TWR AND WITH
ECAO (OPERATIVE AIR TRAFFIC SQUADRON) MADRID.
F) 05000FT AMSL G) FL100

D1092/26
09-13 16-20 23-27 0830-1400
TEMPORARY SEGREGATED AREA FOR UNMANNED AIRCRAFT VEHICLES
FLYING **ACTIVATED** WI 422726N 0064355W, 423905N 0061544W,
423021N 0060859W, 422121N 0062349W, 421840N 0061723W,
422256N 0060213W, 420536N 0054903W, 415951N 0060938W,
422726N 0064355W
LEON/GROSA-WORKING ZONE 3-TELENO
RMK: THE ACTIVATION/DEACTIVATION OF THIS AREA WILL BE CARRIED OUT
IN REAL TIME BY TACTICAL COORDINATION WITH LEON TWR AND WITH
ECAO (OPERATIVE AIR TRAFFIC SQUADRON) MADRID.
F) FL080 G) FL155

D1089/26
09-13 16-20 23-27 0830-1400
TEMPORARY SEGREGATED AREA FOR UNMANNED AIRCRAFT VEHICLES
FLYING **ACTIVATED** WI 430113N 0063844W, 430113N 0060733W,
423847N 0060727W, 423857N 0061539W, 423321N 0062933W,
430113N 0063844W
LEON/GROSA-WORKING ZONE 1 LOW-VILLABLINO
RMK: THE ACTIVATION/DEACTIVATION OF THIS AREA WILL BE CARRIED OUT
IN REAL TIME BY TACTICAL COORDINATION WITH LEON TWR AND WITH
ECAO (OPERATIVE AIR TRAFFIC SQUADRON) MADRID.
F) FL080 G) FL135

D1090/26
09-13 16-20 23-27 0830-1400
TEMPORARY SEGREGATED AREA FOR UNMANNED AIRCRAFT VEHICLES
FLYING **ACTIVATED** WI 430113N 0063844W, 430110N 0062345W,
423855N 0061539W, 423321N 0062933W, 430113N 0063844W
LEON/GROSA-WORKING ZONE 1 HIGH-VILLABLINO
RMK: THE ACTIVATION/DEACTIVATION OF THIS AREA WILL BE CARRIED OUT
IN REAL TIME BY TACTICAL COORDINATION WITH LEON TWR AND WITH
ECAO (OPERATIVE AIR TRAFFIC SQUADRON) MADRID.
F) FL125 G) FL155

D1091/26
09-13 16-20 23-27 0830-1400
TEMPORARY SEGREGATED AREA FOR UNMANNED AIRCRAFT VEHICLES
FLYING **ACTIVATED** WI 423024N 0062152W, 430223N 0063153W,
425513N 0065028W, 424532N 0070231W, 422324N 0063858W,
423024N 0062152W
LEON/GROSA-WORKING ZONE 2-BIERZO
RMK: THE ACTIVATION/DEACTIVATION OF THIS AREA WILL BE CARRIED OUT
IN REAL TIME BY TACTICAL COORDINATION WITH LEON TWR AND WITH
ECAO (OPERATIVE AIR TRAFFIC SQUADRON) MADRID.
F) FL080 G) FL155

D1137/26
0800-2100
TEMPO SEGREGATED AREA **ACTIVATED** FOR UAS WI COORD:
402340N 0035237W
402643N 0035330W
402647N 0035034W
402358N 0035036W
402340N 0035237W
BOADILLA DEL MONTE, MADRID
F) SFC G) 00030M AGL

D1117/26
SR-SS
TEMPO SEGREGATED AREA **ACTIVATED** FOR UAS WI COORD:
383352N 0025516W
384259N 0025426W
384321N 0024907W
384428N 0024822W
384516N 0024813W
384514N 0024452W
383728N 0023213W
382959N 0023238W
383021N 0023819W
383219N 0023936W
383256N 0024651W
383404N 0024707W
383444N 0025152W
383352N 0025516W
ALBALADEJO, CIUDAD REAL.
RMK:
COORDINATION PHONE NUMBER: +34 948 572 230 / +34 669 408 833
COORDINATION MAIL: COORDINACIONES(AT)FUVEX.COM
F) SFC G) 00100M AGL

D1027/26
09-22 SR-SS, 28-31 SR-SS
TEMPO SEGREGATED AREA **ACTIVATED** FOR UNMANNED ACFT FLYING
WI COORD 394850N 0012112W - 395543N 0011127W -
395739N 0011112W - 400033N 0011605W - 395749N 0011806W -
400121N 0012137W - 400409N 0013241W - 395927N 0013249W -
395925N 0013007W - 395739N 0012813W - 395534N 0012839W -
395220N 0013132W - 395127N 0013032W - 395201N 0012526W -
394920N 0012455W - 394810N 0012250W - 394859N 0012204W -
394850N 0012112W
LANDETE, CUENCA
RMK:
COORDINATION PHONE NUMBER: +34 636 440 147 / +34 669 408 833
COORDINATION MAIL: COORDINACIONES(AT)FUVEX.COM
F) SFC G) 00100M AGL

D0650/26
0633-1823
TEMPO SEGREGATED AREA **ACTIVATED** FOR UNMANNED ACFT FLYING
WI COORD 411703N 0020839W - 411912N 0020837W - 411904N 0015538W -
411653N 0015537W - 411703N 0020839W
ARIZA, ZARAGOZA
RMK:
CORDINATION PHONE NUMBER: +34 636 440 147 / +34 669 408 833
CORDINATION MAIL: COORDINACIONES(AT)FUVEX.COM
F) SFC G) 00100M AGL

D1121/26
SR-SS
TEMPO SEGREGATED AREA **ACTIVATED** FOR UAS WI COORD:
403148N 0045405W
403208N 0045333W
403208N 0045204W
403111N 0045205W
403112N 0045349W
403148N 0045405W
CASTRO DE ULACA, AVILA.
RMK:
COORDINATION PHONE NUMBER: +34 687 290 341 / +34 619 804 254
COORDINATION MAIL: C.RODRIGUEZ(AT)INVICSA-AIRTECH.COM
F) SFC G) 00120M AGL

D0627/26
06 09 11 13 16 18 20 23 27 0730-1400, 10 12 17 19 26 0730-1700
LED90B **ACTIVATED** FOR REAL GUN FIRING
UPPER VERTICAL LIMIT MODIFIED.
RMK: THE AREA WILL BE TREATED AS TSA.
THE ACTIVATION/DEACTIVATION OF THIS AREA WILL BE CARRIED OUT
IN REAL TIME BY TACTICAL COORDINATION WITH ECAO (OPERATIVE
AIR TRAFFIC SQUADRON) SEVILLA.
F) SFC G) 28000FT AMSL

D0703/26
SR-SS
TEMPO RESTRICTED AREA **ACTIVATED** FOR UNMANNED ACFT FLYING
WI COORD 402910N 0014549W - 403315N 0020058W -
404220N 0020919W - 404201N 0021544W - 404746N 0022138W -
405614N 0015938W - 405130N 0015015W - 404310N 0015005W -
403505N 0013917W - 403101N 0013938W - 402910N 0014549W
TARAVILLA, GUADALAJARA
RMK:
CORDINATION PHONE NUMBER: +34 680 836 208/ +34 669 408 833
CORDINATION MAIL: COORDINACIONES(AT)FUVEX.COM
F) SFC G) 00100M AGL

D0702/26
SR-SS
TEMPO SEGREGATED AREA **ACTIVATED** FOR UNMANNED ACFT FLYING
WI COORD 401349N 0015336W - 401349N 0015331W -
401318N 0014905W - 400543N 0013702W - 400338N 0013910W -
400125N 0014633W - 400256N 0015227W - 400709N 0015208W -
401148N 0015501W - 401349N 0015336W
VALDEMORO-SIERRA, CUENCA
RMK:
CORDINATION PHONE NUMBER: +34 680 836 208/ +34 669 408 833
CORDINATION MAIL: COORDINACIONES(AT)FUVEX.COM
F) SFC G) 00100M AGL

D0955/26
03-04 10-12 2030-2150, 09 1400-2150, 30-31 0800-2150
AIR OPERATIONS WI 365531N 0072129W, 370430N 0070731W,
370537N 0070137W, 365033N 0064303W, 362000N 0072130W,
365531N 0072129W
HUELVA/D-121 REDUCIDA
RMK: THE ACTIVATION/DEACTIVATION OF THIS AREA WILL BE CARRIED OUT
IN REAL TIME BY TACTICAL COORDINATION WITH ECAO (OPERATIVE
AIR TRAFFIC SQUADRON) SEVILLA.
F) FL110 G) FL240

D0429/26
03-04 10 12 2030-2150, 30-31 0800-2150
LED122 **ACTIVATED** FOR AIR OPERATIONS
LOWER AND UPPER VERTICAL LIMITS MODIFIED
RMK: THE ACTIVATION/DEACTIVATION OF THIS AREA WILL BE CARRIED OUT
IN REAL TIME BY TACTICAL COORDINATION WITH ECAO (OPERATIVE
AIR TRAFFIC SQUADRON) SEVILLA.
F) FL110 G) FL240

D0430/26
03 10-12 2030-2150, 06 0900-2150, 30-31 0800-2150
LED129 **ACTIVATED** FOR AIR OPERATIONS
LOWER AND UPPER VERTICAL LIMITS MODIFIED
RMK: THE ACTIVATION/DEACTIVATION OF THIS AREA WILL BE CARRIED OUT
IN REAL TIME BY TACTICAL COORDINATION WITH ECAO (OPERATIVE
AIR TRAFFIC SQUADRON) SEVILLA.
F) FL110 G) FL240

D0991/26
TEMPO RESTRICTED AREA **ACTIVATED** FOR UNMANNED ACFT FLYING
WI COORD 402508N 0031757W - 402556N 0031755W -
402526N 0025622W - 402004N 0025900W - 402103N 0030143W -
401939N 0030603W - 402046N 0031245W - 402230N 0031428W -
402246N 0031916W - 402516N 0031849W - 402510N 0031823W -
402508N 0031757W
VILLALBILLA, MADRID
RMK:
PHONE NUMBER: +34 661 810 529
F) 00120M AGL G) 00400M AGL

D0994/26
SR-SS
TEMPO SEGREGATED AREA **ACTIVATED** FOR UNMANNED ACFT
FLYING WI COORD 385130N 0034707W - 385054N 0034423W -
384505N 0033927W - 384213N 0034516W - 384219N 0034657W -
384338N 0034659W - 384801N 0034952W - 385130N 0034707W
GRANATULA DE CALATRAVA, CIUDAD REAL
RMK:
COORDINATION PHONE NUMBER: +34 636 440 147 / +34 669 408 833
COORDINATION MAIL: COORDINACIONES(AT)FUVEX.COM
F) SFC G) 00100M AGL

D0542/26
03 05 10 12 17 19 24 26 31 0700-1200 1400-1900 2000-2359
LETS37 ACT FOR UNMANNED ACFT VEHICLES FLYING
AND REAL GUN FIRING
RMK: THE ACTIVATION/DEACTIVATION OF THIS AREA WILL BE CARRIED OUT
IN REAL TIME BY TACTICAL COORDINATION WITH ECAO (OPERATIVE
AIR TRAFFIC SQUADRON) SEVILLA
F) SFC G) 11000FT AMSL

D0887/26
02 1400-2000, 06 09 16-20 23 0600-0800 1400-2000, 10 12 ,
0700-0800, 13 24-27 0700-2000
AIR OPERATIONS WI 365531N 0072129W, 370430N 0070731W,
370537N 0070137W, 365033N 0064303W, 362000N 0072130W,
365531N 0072129W
HUELVA/D-121 REDUCIDA
RMK: THE ACTIVATION/DEACTIVATION OF THIS AREA WILL BE CARRIED OUT
IN REAL TIME BY TACTICAL COORDINATION WITH ECAO (OPERATIVE
AIR TRAFFIC SQUADRON) SEVILLA
F) SFC G) FL245

D0898/26
02 1200-2000, 03 05 1600-2000, 06 09 11-13 16 18-20 23 25-27 ,
0700-2000, 04 0800-1600
LED90C **ACTIVATED** FOR REAL GUN FIRING AND AIR OPERATIONS
UPPER VERTICAL LIMIT MODIFIED.
RMK: THE AREA WILL BE TREATED AS TSA.
THE ACTIVATION/DEACTIVATION OF THIS AREA WILL BE CARRIED OUT
IN REAL TIME BY TACTICAL COORDINATION WITH ECAO (OPERATIVE
AIR TRAFFIC SQUADRON) SEVILLA.
F) SFC G) FL280

D0884/26
02-05 23-26 0900-1300 1500-2130, 06 0900-1200, 10-12 0900-1300
TEMPORARY SEGREGATED AREA FOR UNMANNED AIRCRAFT
VEHICLE FLYING **ACTIVATED** WI 375103N 0014758W, 375057N 0013901W,
374517N 0013925W, 374501N 0014826W, 375103N 0014758W
MURCIA/ALAGUECES
F) SFC G) 03100FT AMSL

D0602/26
MAR 02-03 06 13 20 27 0800-1400, MAR 05 09-12 16-19 23-26 ,
0800-1400 1800-2300, MAR 30-31 0700-1300 1700-2200, APR 01-02 ,
0700-1300 1700-2200, APR 03 0700-1300
AIR EXERCISES HPMA (HIGH PERFORMANCE MILITARY AIRCRAFT)
WI 422543N 0010839W, 415500N 0001300E, 413643N 0000803E,
413916N 0003659W, 414711N 0003817W, 415636N 0004726W,
415938N 0010354W, 422543N 0010839W
ZARAGOZA/AREA 1-2-3
RMK: IFR FLT ARR/DEP LEHC WILL NOT BE AFFECTED BY THIS ACTIVITY.
RMK: ATS ROUTE P152 SHALL REMAIN FLIGHT PLANNABLE FOR GENERAL
AIR TRAFFIC, OPERATING UNDER TACTICAL COORDINATION
WITH TACC ZARAGOZA.
RMK: THE ACTIVATION/DEACTIVATION OF THIS AREA WILL BE CARRIED OUT
IN REAL TIME BY TACTICAL COORDINATION WITH TACC ZARAGOZA.
F) FL070 G) FL240

D0603/26
MAR 02-03 06 13 20 27 0800-1400, MAR 05 09-12 16-19 23-26 ,
0800-1400 1800-2300, MAR 30-31 0700-1300 1700-2200, APR 01-02 ,
0700-1300 1700-2200, APR 03 0700-1300
AIR EXERCISES HPMA (HIGH PERFORMANCE MILITARY AIRCRAFT)
WI 412300N 0011557W, 410900N 0023000W, 411800N 0023000W,
413525N 0021838W, 413854N 0013000W, 412300N 0011557W ZARAGOZA/AREA
C
RMK: THE ACTIVATION/DEACTIVATION OF THIS AREA WILL BE CARRIED OUT
IN REAL TIME BY TACTICAL COORDINATION WITH TACC ZARAGOZA.
F) FL070 G) FL240

D0155/26
02-06 09 11 13 16 18 20 23 25 27 0730-1400, 10 12 17 19 24 26 ,
0730-1700
FIRING EXERCISES WI 362735N 0061455W, 362704N 0061430W
362639N 0061411W, 361927N 0061334W, 361916N 0061654W
362735N 0061455W
CADIZ/GOLFO DE CADIZ
RMK: THE AREA WILL BE TREATED AS TSA.
THE ACTIVATION/DEACTIVATION OF THIS AREA WILL BE CARRIED OUT
IN REAL TIME BY TACTICAL COORDINATION WITH ECAO (OPERATIVE
AIR TRAFFIC SQUADRON) SEVILLA.
F) SFC G) 16500FT AMSL

D0951/26
TEMPORARY SEGREGATED AREAS FOR UNMANNED AIRCRAFT VEHICLES
FLYING **ACTIVATED** AS FOLLOWS:
THE ACTIVATION/DEACTIVATION OF THESE AREAS WILL BE CARRIED OUT
IN REAL TIME BY TACTICAL COORDINATION WITH THE APROPRIATE ECAO
(OPERATIVE AIR TRAFFIC SQUADRON) OR APP IN EACH AREA.
SEGREGATED AREAS:
TSA TALAVERA LOW AUTOMATICO
LATERAL LIMITS: CIRCLE OF 08NM RADIUS CENTRED ON
385329N 0064917W.
VERTICAL LIMITS: SFC/5000FT AMSL
DATES AND TIMES: MAR 17 HR 1930-2359
MAR 18 HR 0000-0700
RMK: EXCEPTED FLT (EMERGENCY SITUATIONS) MUST COORDINATE WITH ATC
UNIT APPROPIATE PROCEDURE, IF DEACTIVATION IS NOT FEASIBLE
BEFORE ENTERING THE AREA.
RMK: ANY FLT INTERESTED IN USING AFFECTED AIRSPACE MUST CONTACT
WITH TALAVERA APP/TWR IN ORDER TO UPDATE ACTIVATION STATUS.
TSA TALAVERA LOW
LATERAL LIMITS: CIRCLE OF 5,9NM RADIUS CENTRED ON
385329N 0064917W.
VERTICAL LIMITS: SFC/2500FT AMSL
LATERAL LIMITS: CIRCLE OF 08NM RADIUS CENTRED ON
385329N 0064917W.
VERTICAL LIMITS: 2500FT/5000FT AMSL
DATES AND TIMES: MAR 17 HR 1930-2359
MAR 18 HR 0000-0700
RMK: EXCEPTED FLT (EMERGENCY SITUATIONS) MUST COORDINATE WITH ATC
UNIT APPROPIATE PROCEDURE, IF DEACTIVATION IS NOT FEASIBLE
BEFORE ENTERING THE AREA.
RMK: ANY FLT INTERESTED IN USING AFFECTED AIRSPACE MUST CONTACT
WITH TALAVERA APP/TWR IN ORDER TO UPDATE ACTIVATION STATUS.
END PART 1 OF 13

TSA TALAVERA LOW NORTH
LATERAL LIMITS: 385658N 0065446W, 385036N 0064303W,
FROM THIS POINT FOLLOWING AN ARC OF 5,9NM
RADIUS CENTRED ON 385329N 0064917W
COUNTER CLOCKWISE UP TO 385658N 0065446W.
VERTICAL LIMITS: SFC/2500FT AMSL
LATERAL LIMITS: 385821N 0065723W, 384911N 0064030W,
FROM THIS POINT FOLLOWING AN ARC OF 08NM
RADIUS CENTRED ON 385329N 0064917W
COUNTER CLOCKWISE UP TO 385821N 0065723W.
VERTICAL LIMITS: 2500FT AMSL/5000FT AMSL
DATES AND TIMES: MAR 17 HR 1930-2359
MAR 18 HR 0000-0700
RMK: EXCEPTED FLT (EMERGENCY SITUATIONS) MUST COORDINATE WITH ATC
UNIT APPROPIATE PROCEDURE, IF DEACTIVATION IS NOT FEASIBLE
BEFORE ENTERING THE AREA.
RMK: ANY FLT INTERESTED IN USING AFFECTED AIRSPACE MUST CONTACT
WITH TALAVERA APP/TWR IN ORDER TO UPDATE ACTIVATION STATUS.
TSA TALAVERA LOW SOUTH
LATERAL LIMITS: 385609N 0065527W, 384948N 0064351W,
FROM THIS POINT FOLLOWING AN ARC OF 5,9NM
RADIUS CENTRED ON 385329N 0064917W
CLOCKWISE UP TO 385609N 0065527W.
VERTICAL LIMITS: SFC/2500FT AMSL
LATERAL LIMITS: 385734N 0065803W, 384821N 0064118W,
FROM THIS POINT FOLLOWING AN ARC OF 08NM
RADIUS CENTRED ON 385329N 0064917W
CLOCKWISE UP TO 385734N 0065803W.

VERTICAL LIMITS: 2500FT AMSL/5000FT AMSL
DATES AND TIMES: MAR 17 HR 1930-2359
MAR 18 HR 0000-0700
RMK: EXCEPTED FLT (EMERGENCY SITUATIONS) MUST COORDINATE WITH ATC
UNIT APPROPIATE PROCEDURE, IF DEACTIVATION IS NOT FEASIBLE
BEFORE ENTERING THE AREA.
RMK: ANY FLT INTERESTED IN USING AFFECTED AIRSPACE MUST CONTACT
WITH TALAVERA APP/TWR IN ORDER TO UPDATE ACTIVATION STATUS.
TSA TALAVERA MEDIUM
LATERAL LIMITS: CIRCLE OF 08NM RADIUS CENTRED ON
385329N 0064917W.
VERTICAL LIMITS: 4000FT AMSL/FL080
DATES AND TIMES: MAR 17 HR 1930-2359
MAR 18 HR 0000-0700
RMK: EXCEPTED FLT (EMERGENCY SITUATIONS) MUST COORDINATE WITH ATC
UNIT APPROPIATE PROCEDURE, IF DEACTIVATION IS NOT FEASIBLE
BEFORE ENTERING THE AREA.
RMK: ANY FLT INTERESTED IN USING AFFECTED AIRSPACE MUST CONTACT
WITH TALAVERA APP/TWR IN ORDER TO UPDATE ACTIVATION STATUS.
TSA TALAVERA HIGH
LATERAL LIMITS: 391229N 0064931W, 390454N 0062537W,
383332N 0064905W, 384300N 0070639W,
391229N 0064931W.
VERTICAL LIMITS: 7000FT AMSL/FL140
DATES AND TIMES: MAR 17 HR 1930-2359
MAR 18 HR 0000-0700
RMK: ANY FLT INTERESTED IN USING AFFECTED AIRSPACE MUST CONTACT
WITH TALAVERA APP/TWR IN ORDER TO UPDATE ACTIVATION STATUS.
TSA TALAVERA HIGH SOUTH
LATERAL LIMITS: 384300N 0070639W, 383332N 0064905W,

384953N 0063651W, 385525N 0065926W,
384300N 0070639W.
VERTICAL LIMITS: 7000FT AMSL/FL140
DATES AND TIMES: MAR 17 HR 1930-2359
MAR 18 HR 0000-0700
RMK: ANY FLT INTERESTED IN USING AFFECTED AIRSPACE MUST CONTACT
WITH TALAVERA APP/TWR IN ORDER TO UPDATE ACTIVATION STATUS.
TSA TALAVERA HIGH NORTH
LATERAL LIMITS: 391229N 0064932W, 390454N 0062537W,
384953N 0063651W, 385525N 0065926W,
391229N 0064932W.
VERTICAL LIMITS: 7000FT AMSL/FL140
DATES AND TIMES: MAR 17 HR 1930-2359
MAR 18 HR 0000-0700
RMK: ANY FLT INTERESTED IN USING AFFECTED AIRSPACE MUST CONTACT
WITH TALAVERA APP/TWR IN ORDER TO UPDATE ACTIVATION STATUS.
TSA LAST SIX LOW
LATERAL LIMITS: CIRCLE OF 04NM RADIUS CENTRED ON
390120N 0064400W.
VERTICAL LIMITS: SFC/FL260
DATES AND TIMES: MAR 17 HR 1930-2359
MAR 18 HR 0000-0700
RMK: ANY FLT INTERESTED IN USING AFFECTED AIRSPACE MUST CONTACT
WITH TALAVERA APP/TWR IN ORDER TO UPDATE ACTIVATION STATUS.
TSA LAST SIX HIGH
LATERAL LIMITS: CIRCLE OF 04NM RADIUS CENTRED ON
390120N 0064400W.
VERTICAL LIMITS: FL250/FL350
DATES AND TIMES: MAR 17 HR 1930-2359
MAR 18 HR 0000-0700

RMK: ANY FLT INTERESTED IN USING AFFECTED AIRSPACE MUST CONTACT
WITH TALAVERA APP/TWR IN ORDER TO UPDATE ACTIVATION STATUS.

TSA SECTOR 5
LATERAL LIMITS: 381410N 0065147W, 381134N 0070505W,
382701N 0071726W, 384416N 0071216W,
384728N 0065940W, 384459N 0065521W,
384308N 0064814W, 381410N 0065147W.
VERTICAL LIMITS: FL100/FL350
DATES AND TIMES: MAR 17 HR 1930-2359
MAR 18 HR 0000-0700
RMK: ANY FLT INTERESTED IN USING AFFECTED AIRSPACE MUST CONTACT
WITH TALAVERA APP/TWR IN ORDER TO UPDATE ACTIVATION STATUS.
TSA SECTOR 5 LOW
LATERAL LIMITS: 381410N 0065147W, 381134N 0070505W,
382701N 0071726W, 384416N 0071216W,
384728N 0065940W, 384459N 0065521W,
384308N 0064814W, 381410N 0065147W.
VERTICAL LIMITS: FL100/FL150
DATES AND TIMES: MAR 17 HR 1930-2359
MAR 18 HR 0000-0700
RMK: ANY FLT INTERESTED IN USING AFFECTED AIRSPACE MUST CONTACT
WITH TALAVERA APP/TWR IN ORDER TO UPDATE ACTIVATION STATUS.
TSA SECTOR 5 HIGH
LATERAL LIMITS: 381410N 0065147W, 381134N 0070505W,
382701N 0071726W, 384416N 0071216W,
384728N 0065940W, 384459N 0065521W,
384308N 0064814W, 381410N 0065147W.
VERTICAL LIMITS: FL150/FL350
DATES AND TIMES: MAR 17 HR 1930-2359
MAR 18 HR 0000-0700
RMK: ANY FLT INTERESTED IN USING AFFECTED AIRSPACE MUST CONTACT
END PART 5 OF 13

WITH TALAVERA APP/TWR IN ORDER TO UPDATE ACTIVATION
STATUS. TSA ZAFRA EAST
LATERAL LIMITS: 383208N 0055329W, 380625N 0060155W,
375951N 0060826W, 383800N 0063728W,
383951N 0063412W, 384401N 0063002W,
383208N 0055329W.
VERTICAL LIMITS: FL260/FL350
DATES AND TIMES: MAR 17 HR 1930-2359
MAR 18 HR 0000-0700
RMK: ANY FLT INTERESTED IN USING AFFECTED AIRSPACE MUST CONTACT
WITH TALAVERA APP/TWR IN ORDER TO UPDATE ACTIVATION STATUS.
TSA ZAFRA WEST
LATERAL LIMITS: 375951N 0060826W, 374856N 0062400W,
380157N 0065306W, 383549N 0064908W,
383601N 0064437W, 383800N 0063728W,
375951N 0060826W.
VERTICAL LIMITS: FL260/FL350
DATES AND TIMES: MAR 17 HR 1930-2359
MAR 18 HR 0000-0700
RMK: ANY FLT INTERESTED IN USING AFFECTED AIRSPACE MUST CONTACT
WITH TALAVERA APP/TWR IN ORDER TO UPDATE ACTIVATION STATUS.
TSA FITA
LATERAL LIMITS: 363246N 0063706W, 363020N 0063736W,
363121N 0064944W, 363326N 0064946W,
364443N 0064943W, 365729N 0063252W,
371030N 0063723W, 371540N 0061153W,
371526N 0055503W, 364638N 0060004W,
363246N 0063706W.

VERTICAL LIMITS: FL245/FL275
DATES AND TIMES: MAR 18 HR 0000-0530
TSA PASILLO ZAFRA
LATERAL LIMITS: 383244N 0065303W, 375354N 0063241W,

380343N 0065655W, 383244N 0065303W.
VERTICAL LIMITS: FL245/FL275
DATES AND TIMES: MAR 02 09 24 25 HR 0700-1900
MAR 17 HR 1600-2359
MAR 18 HR 0000-0700
MAR 30 HR 0600-1800
RMK: ANY FLT INTERESTED IN USING AFFECTED AIRSPACE MUST CONTACT WITH TALAVERA APP/TWR IN ORDER TO UPDATE ACTIVATION STATUS.
TSA PASILLO HUELVA WHISKY
LATERAL LIMITS: 380456N 0064521W, 375913N 0063315W,
375048N 0070541W, 373231N 0071738W,
372835N 0071609W, 372806N 0071315W,
372841N 0070930W, 371546N 0070423W,
371642N 0071421W, 371950N 0071533W,
372106N 0072431W, 373321N 0072911W,
375753N 0071313W, 380456N 0064521W.
VERTICAL LIMITS: FL245/FL275
DATES AND TIMES: MAR 02 09 24 25 HR 0700-1900
MAR 17 HR 1600-2359
MAR 18 HR 0000-0700
MAR 30 HR 0600-1800
TSA PASILLO HUELVA
LATERAL LIMITS: 380535N 0064722W, 380020N 0063559W,
371840N 0070733W, 372027N 0071943W,
380535N 0064722W.
VERTICAL LIMITS: FL245/FL275
DATES AND TIMES: MAR 02 09 24 25 HR 0700-1900
MAR 17 HR 1600-2359
MAR 18 HR 0000-0700
MAR 30 HR 0600-1800
RMK: THE AREA WILL BE PLANNABLE WITH ACTIVATION/DEACTIVATION BY

TACTICAL COORDINATION WITH ECAO (OPERATIVE AIR TRAFFIC SQUADRON) SEVILLA.
TSA ANDEVALO
LATERAL LIMITS: 372343N 0071707W, 372516N 0070807W,
370053N 0065830W, 365908N 0070718W,
372343N 0071707W.
VERTICAL LIMITS: FL245/FL275
DATES AND TIMES: MAR 02 09 24 25 HR 0700-1900
MAR 17 HR 1600-2359
MAR 18 HR 0000-0700
MAR 30 HR 0600-1800
RMK: THE AREA WILL BE PLANNABLE WITH ACTIVATION/DEACTIVATION BY TACTICAL COORDINATION WITH ECAO (OPERATIVE AIR TRAFFIC SQUADRON) SEVILLA.
TSA GOLFO
LATERAL LIMITS: 365532N 0072130W, 370423N 0070923W,
370536N 0070136W, 365032N 0064303W,
363556N 0064301W, 363452N 0063303W,
355130N 0064230W, 355700N 0072130W,
365532N 0072130W.
VERTICAL LIMITS: FL245/FL275
DATES AND TIMES: MAR 02 09 24 25 HR 0700-1900
MAR 17 HR 1600-2359
MAR 18 HR 0000-0700
MAR 30 HR 0600-1800

TSA PASILLO GOLFO NORTH
LATERAL LIMITS: 370324N 0071202W, 370538N 0070010W,
362751N 0064849W, 362544N 0070058W,
370324N 0071202W.
VERTICAL LIMITS: FL245/FL275
DATES AND TIMES: MAR 02 09 24 25 HR 0700-1900
MAR 17 HR 1600-2359
MAR 18 HR 0000-0700
MAR 30 HR 0600-1800
END PART 8 OF 13

RMK: THE AREA WILL BE PLANNABLE WITH ACTIVATION/DEACTIVATION
BY TACTICAL COORDINATION WITH ECAO (OPERATIVE AIR TRAFFIC
SQUADRON) SEVILLA.
TSA PASILLO GOLFO SOUTH
LATERAL LIMITS: 363035N 0070224W, 363249N 0065021W,
355048N 0063726W, 355029N 0065044W,
363035N 0070224W.
VERTICAL LIMITS: FL245/FL275
DATES AND TIMES: MAR 02 09 24 25 HR 0700-1900
MAR 17 HR 1600-2359
MAR 18 HR 0000-0700
MAR 30 HR 0600-1800
RMK: THE AREA WILL BE PLANNABLE WITH ACTIVATION/DEACTIVATION BY
TACTICAL COORDINATION WITH ECAO (OPERATIVE AIR TRAFFIC
SQUADRON) SEVILLA.
TSA ESTRECHO 1W
LATERAL LIMITS: 355827N 0064739W, 355832N 0061514W,
355117N 0062132W, 355037N 0064945W,
355827N 0064739W.
VERTICAL LIMITS: FL245/FL275
DATES AND TIMES: MAR 02 09 24 25 HR 0700-1900
MAR 17 HR 1600-2359
MAR 18 HR 0000-0700
MAR 30 HR 0600-1800
RMK: THE AREA WILL BE PLANNABLE WITH ACTIVATION/DEACTIVATION BY
TACTICAL COORDINATION WITH ECAO (OPERATIVE AIR TRAFFIC
SQUADRON) SEVILLA.
TSA ESTRECHO 1E
LATERAL LIMITS: 355108N 0062449W, 355834N 0061829W,
355838N 0055331W, 355202N 0055256W,
355108N 0062449W.
VERTICAL LIMITS: FL245/FL275
DATES AND TIMES: MAR 02 09 24 25 HR 0700-1900

MAR 17 HR 1600-2359
MAR 18 HR 0000-0700
MAR 30 HR 0600-1800
RMK: THE AREA WILL BE PLANNABLE WITH ACTIVATION/DEACTIVATION BY
TACTICAL COORDINATION WITH ECAO (OPERATIVE AIR TRAFFIC
SQUADRON) SEVILLA.
TSA ESTRECHO 2
LATERAL LIMITS: 355211N 0055413W, 355700N 0052900W,
355551N 0050739W, 360501N 0050012W,
360457N 0052249W, 360104N 0055442W,
355211N 0055413W.
VERTICAL LIMITS: FL245/FL275
DATES AND TIMES: MAR 02 09 24 25 HR 0700-1900
MAR 17 HR 1600-2359
MAR 18 HR 0000-0700
MAR 30 HR 0600-1800
TSA ESTRECHO 3

LATERAL LIMITS: 355551N 0050937W, 355545N 0045332W,
360450N 0044817W, 360455N 0050217W,
355551N 0050937W.
VERTICAL LIMITS: FL245/FL275
DATES AND TIMES: MAR 02 09 24 25 HR 0700-1900
MAR 17 HR 1600-2359
MAR 18 HR 0000-0700
MAR 30 HR 0600-1800
RMK: THE AREA WILL BE PLANNABLE WITH ACTIVATION/DEACTIVATION BY
TACTICAL COORDINATION WITH ECAO (OPERATIVE AIR TRAFFIC
SQUADRON) SEVILLA.
TSA CORREDOR SUR 1 HIGH
LATERAL LIMITS: 355043N 0034221W, 361034N 0040128W,
361010N 0044002W, 360451N 0044340W,
360451N 0045319W, 355549N 0050024W,
355543N 0045005W, 355007N 0045348W,

355043N 0034221W.
VERTICAL LIMITS: FL245/FL275
DATES AND TIMES: MAR 02 09 24 25 HR 0700-1900
MAR 17 HR 1600-2359
MAR 18 HR 0000-0700
MAR 30 HR 0600-1800
TSA CORREDOR SUR 1 MEDIUM
LATERAL LIMITS: 355043N 0034221W, 361034N 0040128W,
361010N 0044002W, 360451N 0044340W,
360451N 0045319W, 355549N 0050024W,
355543N 0045005W, 355007N 0045348W,
355043N 0034221W.
VERTICAL LIMITS: FL175/FL265
DATES AND TIMES: MAR 02 09 24 25 HR 0700-1900
MAR 17 HR 1600-2359
MAR 18 HR 0000-0700
MAR 30 HR 0600-1800
RMK: THE AREA WILL BE PLANNABLE WITH ACTIVATION/DEACTIVATION BY
TACTICAL COORDINATION WITH ECAO (OPERATIVE AIR TRAFFIC
SQUADRON) SEVILLA.
TSA CORREDOR SUR 1 LOW
LATERAL LIMITS: 355043N 0034221W, 361034N 0040128W,
361010N 0044002W, 360451N 0044340W,
360451N 0045319W, 355549N 0050024W,
355543N 0045005W, 355007N 0045348W,
355043N 0034221W.
VERTICAL LIMITS: FL170/FL190
DATES AND TIMES: MAR 02 09 24 25 HR 0700-1900
MAR 17 HR 1600-2359
MAR 18 HR 0000-0700
MAR 30 HR 0600-1800
TSA CORREDOR SUR 2 HIGH
LATERAL LIMITS: 361038N 0040932W, 361032N 0023609W,

355042N 0025436W, 355037N 0035013W,
361038N 0040932W.
VERTICAL LIMITS: FL245/FL275
DATES AND TIMES: MAR 02 09 24 25 HR 0700-1900
MAR 17 HR 1600-2359
MAR 18 HR 0000-0700
MAR 30 HR 0600-1800
TSA CORREDOR SUR 2 LOW
LATERAL LIMITS: 361038N 0040932W, 361032N 0023609W,
355042N 0025436W, 355037N 0035013W,
361038N 0040932W.

VERTICAL LIMITS: FL170/FL190
DATES AND TIMES: MAR 02 09 24 25 HR 0700-1900
MAR 17 HR 1600-2359
MAR 18 HR 0000-0700
MAR 30 HR 0600-1800
TSA CORREDOR SUR 3 HIGH
LATERAL LIMITS: 361033N 0024402W, 361033N 0021433W,
362221N 0015804W, 355041N 0020607W,
355041N 0030223W, 361033N 0024402W.
VERTICAL LIMITS: FL245/FL275
DATES AND TIMES: MAR 02 09 24 25 HR 0700-1900
MAR 17 HR 1600-2359
MAR 18 HR 0000-0700
MAR 30 HR 0600-1800
TSA CORREDOR SUR 3 LOW
LATERAL LIMITS: 361033N 0024402W, 361033N 0021433W,
362221N 0015804W, 355041N 0020607W,
355041N 0030223W, 361033N 0024402W.
VERTICAL LIMITS: FL170/FL190
DATES AND TIMES: MAR 02 09 24 25 HR 0700-1900
MAR 17 HR 1600-2359
MAR 18 HR 0000-0700
MAR 30 HR 0600-1800

TSA CORREDOR SUR 4
LATERAL LIMITS: 361658N 0020533W, 363151N 0014434W,
365059N 0005929W, 363323N 0004752W,
361447N 0013118W, 355041N 0020607W,
355039N 0021206W, 361658N 0020533W.
VERTICAL LIMITS: FL170/FL190
DATES AND TIMES: MAR 09 24 HR 0700-1900
TSA CORREDOR SUR 5
LATERAL LIMITS: 364753N 0010415W, 371952N 0001143E,
365804N 0001142E, 363059N 0005316W,
364753N 0010415W.
VERTICAL LIMITS: FL170/FL190
DATES AND TIMES: MAR 09 24 HR 0700-1900
TSA CORREDOR SUR 6
LATERAL LIMITS: 371829N 0000614E, 380228N 0015703E,
374402N 0020706E, 365553N 0000607E,
371829N 0000614E.
VERTICAL LIMITS: FL170/FL190
DATES AND TIMES: MAR 09 24 HR 0700-1900
TSA CORREDOR SUR 7
LATERAL LIMITS: 375951N 0015034E, 374128N 0020041E,
382035N 0034354E, 382256N 0034709E,
383750N 0032956E, 375951N 0015034E.
VERTICAL LIMITS: FL170/FL190
DATES AND TIMES: MAR 09 24 HR 0700-1900
TSA CORREDOR SUR 8
LATERAL LIMITS: 381916N 0034003E, 383417N 0032411E,
392941N 0043931E, 390036N 0043931E,
382034N 0034352E, 381916N 0034003E.
VERTICAL LIMITS: FL170/FL190
DATES AND TIMES: MAR 09 24 HR 0700-1900
F) SFC G) FL350

D0504/26
02 04 09 11 16 18 23 25 30 0700-1200
LETS37 **ACTIVATED** FOR UNMANNED AIRCRAFT VEHICLES FLYING
UPPER VERTICAL LIMIT MODIFIED
F) SFC G) 04000FT AMSL

D0549/26
02 09 13 16-20 23-27 0700-2000, 10-12 0700-0800
LED129 **ACTIVATED** FOR AIR OPERATIONS
UPPER VERTICAL LIMIT MODIFIED
RMK: THE ACTIVATION/DEACTIVATION OF THIS AREA WILL BE CARRIED OUT
IN REAL TIME BY TACTICAL COORDINATION WITH ECAO (OPERATIVE
AIR TRAFFIC SQUADRON) SEVILLA.
F) SFC G) FL245

D0547/26
02 06 09 13 16-20 23-27 0700-2000, 10-12 0700-0800
LED122 **ACTIVATED** FOR AIR OPERATIONS
UPPER VERTICAL LIMIT MODIFIED
RMK: THE ACTIVATION/DEACTIVATION OF THIS AREA WILL BE CARRIED OUT
IN REAL TIME BY TACTICAL COORDINATION WITH ECAO (OPERATIVE
AIR TRAFFIC SQUADRON) SEVILLA.
F) SFC G) FL245

D0597/26
02 06 09 16 20 23 27 0700-1400
TEMPORARY SEGREGATED AREA FOR UNMANNED AIRCRAFT VEHICLE
FLYING **ACTIVATED** WI 370116N 0022229W, 365812N 0021955W,
365305N 0022149W, 365235N 0022316W, 365350N 0022547W,
370116N 0022229W (LATERAL LIMITS COINCIDENTAL WITH LED36)
ALMERIA/ALVAREZ DE SOTOMAYOR
F) SFC G) 04000FT AMSL

D0891/26
02 06 09 13 16-20 23-27 0700-2000, 10-12 0700-0800
AIR OPERATIONS WI 363555N 0064302W, 363451N 0063304W,
361318N 0063800W, 361418N 0064302W, 363555N 0064302W
HUELVA/D-128 REDUCIDA
RMK: EXER MUST BE COORDINATED WITH ECAO (OPERATIVE AIR TRAFFIC
SQUADRON) SEVILLA.
RMK: THE ACTIVATION/DEACTIVATION OF THIS AREA WILL BE CARRIED OUT
IN REAL TIME BY TACTICAL COORDINATION WITH ECAO (OPERATIVE
AIR TRAFFIC SQUADRON) SEVILLA.
F) SFC G) FL245

D0894/26
02 06 09-13 16-20 23-27 0700-2000, 03 05 0700-1100 1600-2000, 04 ,
1100-1600
LED90A **ACTIVATED** FOR REAL GUN FIRING AND AIR OPERATIONS
UPPER VERTICAL LIMIT MODIFIED.
RMK: THE AREA WILL BE TREATED AS TSA.
THE ACTIVATION/DEACTIVATION OF THIS AREA WILL BE CARRIED OUT
IN REAL TIME BY TACTICAL COORDINATION WITH ECAO (OPERATIVE
AIR TRAFFIC SQUADRON) SEVILLA.
F) SFC G) FL280

D0879/26
SR-SS
TEMPO RESTRICTED AREA **ACTIVATED** FOR UAS WI COORD
383717N 0034507W 383751N 0034616W 383936N 0034647W
383939N 0034740W 384009N 0034739W 384215N 0034618W
384214N 0034610W 384212N 0034455W 384045N 0033854W
383812N 0033746W 383717N 0034507W.
CALZADA DE CALATRAVA, CIUDAD REAL.
RMK:CORDINATION PHONE NUMBER:+34 948 572 230/+34 680 836 208
CORDINATION MAIL: COORDINACIONES(AT)FUVEX.COM
F) SFC G) 00100M AGL

D0818/26
SR-SS
TEMPO SEGREGATED AREA **ACTIVATED** FOR UNMANNED ACFT FLYING
WI COORD: 391638N 0030833W - 390748N 0030805W -
390718N 0032501W - 391547N 0032432W - 391638N 0030833W
ALCAZAR DE SAN JUAN, CIUDAD REAL
RMK:
CORDINATION PHONE NUMBER: +34 636 440 147 / +34 669 408 833
CORDINATION MAIL: COORDINACIONES(AT)FUVEX.COM
F) SFC G) 00100M AGL

D0819/26
SR-SS
TEMPO SEGREGATED AREA **ACTIVATED** FOR UNMANNED ACFT FLYING WI
COORD
383807N 0030452W
383752N 0025648W
383144N 0025414W
383121N 0025427W
383208N 0030012W
383033N 0031027W
383249N 0031222W
383708N 0030759W
383807N 0030452W
VILLAMANRIQUE - CIUDAD REAL
RMK:
CORDINATION PHONE NUMBER: +34 636 440 147 / +34 669 408 833
CORDINATION MAIL: COORDINACIONES(AT)FUVEX.COM
F) SFC G) 00100M AGL

D0866/26
SR-SS
TEMPO SEGREGATED AREA **ACTIVATED** FOR UNMANNED ACFT FLYING
WI COORD: 384347N 0040533W - 384406N 0035519W -
384604N 0035135W - 384601N 0035118W - 384338N 0034659W -
384219N 0034659W - 384234N 0040327W - 384029N 0040326W -
384043N 0040524W - 384347N 0040533W
ALDEA DEL REY, CIUDAD REAL
RMK:
COORDINATION PHONE NUMBER: +34 636 440 147 / +34 669 408 833
CORDINATION MAIL: COORDINACIONES(AT)FUVEX.COM
F) SFC G) 00100M AGL

D0883/26
SR-SS
TEMPO SEGREGADA AREA **ACTIVATED** FOR UNMANNED ACFT FLYING WI
COORD WI COORD 384553N 0031541W - 385004N 0031432W -
385014N 0031236W - 384759N 0031201W - 384617N 0030233W -
385423N 0030125W - 385410N 0025803W - 384519N 0025356W -
384430N 0025357W - 384355N 0025912W - 383841N 0025830W -
383807N 0030434W - 383839N 0031011W - 384443N 0031532W -
384553N 0031541W
VILLANUEVA DE LOS INFANTES, CIUDAD REAL
RMK:
COORDINATION PHONE NUMBER: +34 948 572 230 / +34 680 836 208
COORDINATION MAIL: COORDINACIONES(AT)FUVEX.COM
F) SFC G) 00100M AGL

D0885/26
SR-SS
TEMPO SEGREGATED AREA **ACTIVATED** FOR UNMANNED ACFT FLYING
WI COORD 390148N 0033930W - 390217N 0033933W -
390450N 0033751W - 390713N 0032501W - 390734N 0031518W -
390053N 0030735W - 385151N 0030944W - 385129N 0031822W -
384948N 0032335W - 384945N 0032436W - 385938N 0032557W -
390148N 0033930W
MANZANARES, CIUDAD REAL.
RMK:
COORDINATION PHONE NUMBER: +34 948 572 230 / +34 680 836 208
COORDINATION MAIL: COORDINACIONES(AT)FUVEX.COM
F) SFC G) 00100M AGL

D0579/26
02-06 09-13 16-20 23-27 30-31 SR-SS
TEMPORARY SEGREGATED AREA FOR UNMANNED AIRCRAFT VEHICLE
FLYING **ACTIVATED** WI 403935N 0030600W, 403929N 0030541W,
403954N 0030514W, 403952N 0030508W, 403924N 0030522W,
403914N 0030520W, 403907N 0030553W, 403843N 0030546W,
403857N 0030519W, 403925N 0030504W, 404013N 0030436W,
404111N 0030408W, 404213N 0030325W, 404230N 0030306W,
404247N 0030248W, 404307N 0030301W, 404246N 0030342W,
404127N 0030439W, 404016N 0030526W, 403935N 0030600W
GUADALAJARA/ZONE 1
F) SFC G) 01170M AMSL

D0578/26
02-06 09-13 16-20 23-27 30-31 SR-SS
TEMPORARY SEGREGATED AREA FOR UNMANNED AIRCRAFT VEHICLE
FLYING **ACTIVATED** WI 403646N 0030628W, 403703N 0030618W,
403716N 0030622W, 403833N 0030521W, 403820N 0030551W,
403734N 0030637W, 403739N 0030720W, 403700N 0030656W,
403642N 0030654W, 403643N 0030652W, 403646N 0030628W
GUADALAJARA/ZONE 2
F) SFC G) 01170M AMSL

D0580/26
02-06 09-13 16-20 23-27 30-31 SR-SS
TEMPORARY SEGREGATED AREA FOR UNMANNED AIRCRAFT VEHICLE
FLYING **ACTIVATED** WI 403613N 0030710W, 403635N 0030642W,
403638N 0030648W, 403640N 0030652W, 403641N 0030654W,
403650N 0030655W, 403629N 0030815W, 403628N 0030837W,
403614N 0030832W, 403559N 0030822W, 403541N 0030831W,
403527N 0030843W, 403517N 0030901W, 403506N 0030845W,
403501N 0030838W, 403513N 0030825W, 403613N 0030710W
GUADALAJARA/ZONE 3
F) SFC G) 01170M AMSL

D0455/26
02-05 09-12 16-19 23-26 0600-1300 1500-2200, 06 13 20 27 ,
0600-1200, 30-31 0500-1200 1400-2100
TEMPORARY SEGREGATED AREA FOR UNMANNED AIRCRAFT
VEHICLE FLYING **ACTIVATED** WI 420453N 0082535W,
420626N 0081929W, 420846N 0081448W, 420829N 0081325W,
421037N 0081046W, 421225N 0081217W, 421402N 0081107W,
421700N 0081002W, 421659N 0081112W, 421236N 0081628W,
421149N 0082706W, 420709N 0082842W, 420453N 0082535W
GALICIA/AZOR B
RMK: THE ACTIVATION/DEACTIVATION OF THIS AREA WILL BE CARRIED OUT
IN REAL TIME BY TACTICAL COORDINATION WITH ECAO (OPERATIVE
AIR TRAFFIC SQUADRON) MADRID AND SANTIAGO TACC.
F) SFC G) 00400FT AGL

D0851/26
02-05 09-12 16-19 23-26 0600-1300 1500-2200, 06 13 20 27 ,
0600-1200, 30-31 0500-1200 1400-2100
TEMPORARY SEGREGATED AREA FOR UNMANNED AIRCRAFT VEHICLE FLYING
ACTIVATED WI 422432N 0083918W, 422246N 0083827W, 422154N 0084015W,
422326N 0084049W, 422432N 0084013W, 422432N 0083918W
PONTEVEDRA/FIGUEIRIDO
F) SFC G) 00400FT AGL

D0541/26
SR-SS
TEMPO SEGREGATED AREA LETS30 **ACTIVATED**.
VILLACARRILLO, JAEN.
RMK:
COORDINATION PHONE NUMBER: +34 662 356 102
F) SFC G) 05000FT AMSL

D0909/26
01 03-31 SR-SS, 02 SR-1800
GLIDER, PARAGLINDING OR HANG GLIFER FLYING WILL TAKE PLACE
WI COORD: 422342N 0004433W 421655N 0000434W 420938N 0000458W
421850N 0004506W 422342N 0004433W
HUESCA/ARAGON
F) SFC G) 05740FT AMSL

D0730/26
SR-SS
TEMPO SEGREGATED AREA **ACTIVATED** WI COORD
415310N 0061033W
415336N 0061249W
415556N 0061428W
415729N 0061457W
420024N 0061811W
420153N 0061620W
420118N 0060908W
415926N 0060906W
415635N 0060748W
415529N 0060819W
415528N 0060819W
415310N 0061033W
FERRERAS DE ARRIBA, ZAMORA
RMK:
CORDINATION PHONE NUMBER: +34 948 572 230 / +34 680 836 208
CORDINATION MAIL: COORDINACIONES(AT)FUVEX.COM
F) SFC G) 00100M AGL

D0766/26
SR-SS
TEMPO SEGREGATED AREA **ACTIVATED** WI COORD
423806N 0062911W - 423805N 0062913W - 423428N 0062829W -
423217N 0062536W - 423110N 0062733W - 423402N 0063347W -
423754N 0063223W - 423806N 0062911W
CONGOSTO, LEON
RMK:
CORDINATION PHONE NUMBER: +34 636 440 147 / +34 669 408 833
CORDINATION MAIL: COORDINACIONES(AT)FUVEX.COM
F) SFC G) 00100M AGL

D0728/26
SR-SS
TEMPO SEGREGATED AREA **ACTIVATED** WI COORD
415647N 0061915W
415711N 0061905W
415704N 0061646W
415646N 0061556W
415647N 0061424W
415616N 0061422W
415604N 0061543W
415612N 0061718W
415630N 0061755W
415647N 0061915W
VILLARDECIERVOS, ZAMORA
RMK:
CORDINATION PHONE NUMBER: +34 948 572 230 / +34 680 836 208
CORDINATION MAIL: COORDINACIONES(AT)FUVEX.COM
F) SFC G) 00100M AGL

D0732/26
SR-SS
TEMPO SEGREGATED AREA **ACTIVATED** WI COORD
415509N 0063232W
415556N 0063226W
415631N 0063248W
420119N 0063029W
420332N 0062704W
415806N 0061938W
415704N 0061859W
415633N 0061912W
415639N 0062127W
415457N 0062925W
415456N 0062925W
415509N 0063232W
MANZANAL DE ARRIBA, ZAMORA
RMK:
CORDINATION PHONE NUMBER: +34 948 572 230 / +34 680 836 208
CORDINATION MAIL: COORDINACIONES(AT)FUVEX.COM
F) SFC G) 00100M AGL

D0778/26
SR-SS
TEMPO SEGREGATED AREA **ACTIVATED** WI COORD
420916N 0063611W - 420915N 0063611W - 420743N 0063615W -
420554N 0063511W - 420536N 0063502W - 415850N 0064529W -
415924N 0064605W - 415924N 0064817W - 415704N 0064907W -
415641N 0065349W - 420159N 0070142W - 420435N 0065949W -
420657N 0064738W - 421105N 0063926W - 420916N 0063611W
LUBIAN, ZAMORA
RMK:
CORDINATION PHONE NUMBER: +34 636 440 147 / +34 669 408 833
CORDINATION MAIL: COORDINACIONES(AT)FUVEX.COM
F) SFC G) 00100M AGL

D0725/26
SR-SS
TEMPO SEGREGATED AREA **ACTIVATED** WI COORD
412149N 0040240W
412523N 0040447W
412549N 0040300W
412908N 0035930W
412900N 0035739W
412017N 0035232W
411949N 0035304W
411950N 0035708W
412223N 0035808W
412149N 0040240W
FUENTE EL OLMO DE FUENTIDUENA - SEGOVIA
RMK
CORDINATION PHONE NUMBER: +34 948 572 230 / +34 680 836 208
CORDINATION MAIL: COORDINACIONES(AT)FUVEX.COM
F) SFC G) 00100M AGL

D0734/26
SR-SS
TEMPO SEGREGATED AREA **ACTIVATED** WI COORD
411546N 0032934W
411555N 0033017W
411641N 0033028W
411930N 0033345W
412002N 0033345W
412128N 0033101W
412219N 0033050W
412232N 0033002W
412227N 0032841W
412154N 0032723W
412200N 0032625W
412220N 0032603W
412252N 0032355W
412313N 0032103W
412142N 0031809W
411743N 0032601W
411546N 0032934W
RIAZA - SEGOVIA
RMK
CORDINATION PHONE NUMBER: +34 948 572 230 / +34 680 836 208
CORDINATION MAIL: COORDINACIONES(AT)FUVEX.COM
F) SFC G) 00100M AGL

D0726/26
SR-SS
TEMPO SEGREGATED AREA **ACTIVATED** WI COORD
404433N 0041723W
404536N 0041523W
404554N 0041115W
404308N 0041113W
404229N 0041142W
404242N 0041420W
404254N 0041513W
404433N 0041723W
ESPINAR - SEGOVIA
RMK
CORDINATION PHONE NUMBER: +34 948 572 230 / +34 680 836 208
CORDINATION MAIL: COORDINACIONES(AT)FUVEX.COM
F) SFC G) 00100M AGL

D0764/26
SR-SS
TEMPO SEGREGATED AREA **ACTIVATED** WI COORD
383446N 0041425W
384019N 0041150W
384116N 0040838W
384022N 0040426W
384027N 0040014W
383738N 0035316W
382239N 0035343W
382256N 0040027W
383446N 0041425W
PUERTOLLANO - CIUDAD REAL
RMK
CORDINATION PHONE NUMBER: +34 680 836 208/ +34 669 408 833
CORDINATION MAIL: COORDINACIONES(AT)FUVEX.COM
F) SFC G) 00100M AGL

D0784/26
TEMPO SEGREGATED AREA **ACTIVATED** FOR UNMANNED ACFT FLYING
WI COORD 385525N 0041004W - 385523N 0040623W - 385519N 0040535W -
385438N 0040547W - 385237N 0040622W - 385148N 0040635W -
385209N 0040720W - 385326N 0040959W - 385525N 0041004W
CORRAL DE CALATRAVA, CIUDAD REAL
RMK:
CORDINATION PHONE NUMBER: +34 636 440 147 / +34 669 408 833
CORDINATION MAIL: COORDINACIONES(AT)FUVEX.COM
F) SFC G) 00100M AGL

D0792/26
SR-SS
TEMPO SEGREGATED AREA **ACTIVATED** FOR UNMANNED ACFT FLYING WI
COORD WI 405241N 0024317W - 405242N 0024318W -
405057N 0024048W - 404957N 0023857W - 404735N 0023635W -
404619N 0023800W - 404726N 0024214W - 404710N 0024304W -
404711N 0024629W - 404619N 0024829W - 404410N 0025113W -
404543N 0025328W - 405247N 0024552W - 405241N 0024317W
VALDERREBOLLO, GUADALAJARA
RMK:
CORDINATION PHONE NUMBER: +34 636 440 147 / +34 669 408 833
CORDINATION MAIL: COORDINACIONES(AT)FUVEX.COM
F) SFC G) 00100M AGL

D0845/26
SR-SS
TEMPO SEGREGATED AREA **ACTIVATED** FOR UNMANNED ACFT FLYING
WI COORD:
390408N 0040230W - 390459N 0035418W - 390020N 0035104W -
385943N 0035131W - 385909N 0035148W - 385844N 0035157W -
385801N 0035210W - 385727N 0035213W - 385640N 0035212W -
385513N 0035617W - 385628N 0040324W - 390408N 0040230W
CIUDAD REAL
RMK:
CORDINATION PHONE NUMBER: +34 680 836 208/ +34 669 408 833
CORDINATION MAIL: COORDINACIONES(AT)FUVEX.COM
F) SFC G) 00100M AGL

D0801/26
SR-SS
TEMPO SEGREGATED AREA **ACTIVATED** FOR UNMANNED ACFT FLYING
WI COORD WI COORD 385704N 0043425W - 385551N 0041005W -
384209N 0040939W - 384412N 0041413W - 384516N 0041406W -
384715N 0042135W - 384449N 0042515W - 385322N 0043422W -
385704N 0043425W
CABEZARADOS, CIUDAD REAL
RMK:
CORDINATION PHONE NUMBER: +34 680 836 208/ +34 669 408 833
CORDINATION MAIL: COORDINACIONES(AT)FUVEX.COM
F) SFC G) 00100M AGL

D0688/26
FEB 20-22 SR-SS, FEB 23 SR-1200, FEB 24-27 SR-1800, MAR 02-04 ,
SR-1800, MAR 05-31 SR-SS
TEMPO SEGREGATED AREA **ACTIVATED** FOR UNMANNED ACFT FLYING WI
COORD WI 420545N 0013502W - 420715N 0013402W - 420707N 0013234W -
420717N 0013204W - 420649N 0013111W - 420536N 0013050W -
420438N 0013320W - 420545N 0013502W
TUDELA, NAVARRA
RMK:
CORDINATION PHONE NUMBER: +34 636 440 147 / +34 669 408 833
CORDINATION MAIL: COORDINACIONES(AT)FUVEX.COM
F) SFC G) 00100M AGL

D0531/26
TEMPO RESTRICTED AREA **ACTIVATED** FOR UAS WI COORD
402508N 0031757W - 402556N 0031755W - 402526N 0025622W -
402103N 0030143W - 401939N 0030603W - 402046N 0031245W -
402230N 0031428W - 402246N 0031916W - 402516N 0031849W -
402510N 0031823W - 402508N 0031757W.
VILLALBILLA, MADRID.
RMK:PHONE NUMBER: +34 661 810 529
F) 00120M AGL G) 00400M AGL

D0604/26
SR-SS
TEMPORARY SEGREGATED AREA FOR UNMANNED ACFT VEHICLE FLYING
ACTIVATED WI COORD 423016N 0064937W - 423006N 0062352W -
421634N 0062400W - 421645N 0064055W - 422311N 0064933W -
423016N 0064937W
PRIARANZA DEL BIERZO, LEON
F) SFC G) 00100M AGL

D0167/26
FEB 07-08 14-15 21-22 28 0600-2359, MAR 01 07-08 14-15 21-22 ,
0600-2359
LETS34 **ACTIVATED** FOR REAL FIRING.
UPPER VERTICAL LIMIT MODIFIED
RMK: THE ACTIVATION/DEACTIVATION OF THIS AREA WILL BE CARRIED OUT
IN REAL TIME BY TACTICAL COORDINATION WITH ECAO (OPERATIVE
AIR TRAFFIC SQUADRON) SEVILLA.
F) SFC G) 08000FT AMSL

D0407/26
0700-1900
TEMPO SEGREGADA AREA **ACTIVATED** WI COORD 431426N 0072823W -
431418N
0072735W - 431347N 0072731W - 431335N 0072746W - 431257N 0072741W
- 431257N 0072805W - 431337N 0072859W - 431426N 0072823W
COSPEITO - LUGO
F) SFC G) 00120M AGL

D5293/25
JAN 07-09 12-16 19-23 26-30 SR-SS, FEB 02-06 09-13 16-20 23-27 ,
SR-SS, MAR 02-06 09-13 16-20 23-27 SR-SS
TSA **ACTIVATED** FOR UAS WI COORD 420729N 0084942W
420738N 0085141W 420705N 0085408W 420532N 0085429W
420457N 0092253W 420953N 0092253W 420933N 0085454W
420833N 0085346W 420846N 0085003W 420729N 0084942W
PONTEVEDRA, BAIONA
F) SFC G) 00120M AGL

D0007/26
JAN 07-09 12-16 19-23 26-30 SR-SS, FEB 02-06 09-13 16-20 23-27 ,
SR-SS, MAR 02-06 09-13 16-20 23-27 SR-SS
TSA **ACTIVATED** FOR UAS WI COORD 420207N 0085327W
420207N 0085326W 415601N 0085330W 415427N 0085258W
415235N 0085311W 415558N 0092234W 420221N 0092230W
420207N 0085327W.
OIA, PONTEVEDRA.
RMK:
CORDINATION PHONE NUMBER: +34 600 338 043 / +34 674 384 394
CORDINATION MAIL: INFODRONES(AT)MARINEINSTRUMENTS.ES
F) SFC G) 00120M AGL

D4282/25
JAN 05 07-08 12-15 19-22 26-29 1700-2100, FEB 02-05 09-12 16-19 ,
23-26 1700-2100, MAR 02-05 09-12 16-19 23-26 1700-2100
LER71A **ACTIVATED** FOR AIR OPERATIONS
RMK: THE ACTIVATION/DEACTIVATION OF THIS AREA WILL BE CARRIED OUT
IN REAL TIME BY TACTICAL COORDINATION WITH ECAO (OPERATIVE
AIR TRAFFIC SQUADRON) MADRID.
F) 01000FT AGL G) FL100

D4284/25
JAN 05 07-08 12-15 19-22 26-29 1700-2100, FEB 02-05 09-12 16-19 ,
23-26 1700-2100, MAR 02-05 09-12 16-19 23-26 1700-2100
LER71B **ACTIVATED** FOR AIR OPERATIONS.
UPPER VERTICAL LIMIT MODIFIED
RMK: THE ACTIVATION/DEACTIVATION OF THIS AREA WILL BE CARRIED OUT
IN REAL TIME BY TACTICAL COORDINATION WITH ECAO (OPERATIVE
AIR TRAFFIC SQUADRON) MADRID.
F) 01000FT AGL G) FL100

D5349/25
JAN 02-04 09-11 16-18 23-25 30-31 SR-SS, FEB 01 06-08 13-15 20-22
, 27-28 SR-SS, MAR 01 06-08 13-15 20-22 27-29 SR-SS
PJE WILL TAKE PLACE 5000M RADIUS
CENTERED AT COORD 425901N 0090018W
MAZARICOS - A CORUNA
RMK
HIGHER ALTITUDES **AVAILABLE** SUBJECT TO REAL-TIME COORDINATION WITH
LECG
F) SFC G) 09000FT AMSL

==========
EXTENDED AREA AROUND DESTINATION ALTERNATE AIRPORT(S)
==========

LECB BARCELONA FIR/UIR

++++++++++++++++++++++++++++ FIR/UIR ++++++++++++++++++++++++++++++

B1971/26
TRIGGER NOTAM- AIP SUP 45/26 WEF 19-MAR-26 TO 19-MAR-27 EST
FIR BARCELONA.- LA VACADA IV WIND FARM UNDER CONSTRUCTION

B1978/26
TRIGGER NOTAM- AIP SUP 47/26 WEF 19-MAR-26 TO 19-MAR-27 EST
AIS-ESPANA.- MILITARY INVASION OF UKRAINE BY RUSSIAN
FEDERATION
B0938/26
TRIGGER NOTAM - PERM AIRAC AIP AMDT 02/26 WEF 19-MAR-26 DATA-SET.-
- EN-ROUTE DATASET.
- AIRSPACE DATASET.
- PUBLIC AERODROMES/HELIPORTS DATA SETS:
- ALBACETE (LEAB).
- BILBAO (LEBB).
- JEREZ (LEJR).
- LANZAROTE/CESAR MANRIQUE LANZAROTE
(GCRR).
- REUS (LERS).
B1995/26
TRIGGER NOTAM - AIP SUP 49/26 WEF 19-MAR-26 TO 19-MAR-27 EST.
FIR BARCELONA.- LA ESTRELLA III WIND FARM UNDER CONSTRUCTION
B2001/26
TRIGGER NOTAM - AIP SUP 58/26 WEF 19-MAR-26 TO 19-MAR-27 EST.
FIR BARCELONA.- VACADA V WIND FARM UNDER CONSTRUCTION
B1332/26
UNTIL 31 MAR 2026 2359 UTC, SPANISH CIVIL AIR OPERATORS ARE
RECOMMENDED TO EXERCISE **CAUTION** AND IMPLEMENT CONTINGENCY PLANNING
WHEN OPERATING AND ROUTING WITHIN:
A) SAN JUAN FIR (TJZS),
B) CURACAO FIR (TNCF) ,
C) PIARCO FIR (TTZP) WEST OF 0570000W,
DUE TO POTENTIAL SPILLOVER RISKS ASSOCIATED WITH THE DEPLOYMENT
AND POSSIBLE USE OF MILITARY ASSETS IN THE REGION
B1330/26
UNTIL 31 MAR 2026 2359 UTC, SPANISH CIVIL AIR OPERATORS ARE
RECOMMENDED TO EXERCISE **CAUTION** AND IMPLEMENT CONTINGENCY PLANNING
WHEN OPERATING AND ROUTING WITHIN MAIQUETIA FIR (SVZM) DUE TO
POTENTIAL RISKS ASSOCIATED WITH THE DEPLOYMENT AND POSSIBLE USE OF
MILITARY ASSETS IN THE REGION
B1231/26
MILITARY INVASION OF UKRAINE BY RUSSIAN FEDERATION:
ALL AIRCRAFT OWNED, CHARTERED OR OPERATED OR OTHERWISE CONTROLLED
BY CITIZENS OF THE RUSSIAN FEDERATION AND ALL OPERATORS HOLDING
AIR OPERATOR CERTIFICATE (AOC) ISSUED BY THE RUSSIAN FEDERATION
AUTHORITIES ARE PROHIBITED TO ENTER, EXIT OR OVERFLY SPANISH
AIRSPACE EXCEPT HUMANITARIAN, SAR AND LEASED AIRCRAFT ONE-WAY
RETURN FLIGHTS WITH THE PERMISSION OF THE APPROPRIATE SPANISH
AUTHORITIES AND IN CASE OF EMERGENCY LANDING OR EMERGENCY
OVERFLIGHT. REQUESTS FOR HUMANITARIAN FLIGHTS SHALL BE SENT TO THE
CONCERNED SPANISH AIRPORT OPERATOR.
B1229/26
IN ACCORDANCE WITH COUNCIL DECISION (CFSP) 2021/908 , PERMISSION
TO LAND IN, TAKE-OFF FROM OR OVERFLY THE TERRITORY OF SPAIN SHALL
BE DENIED TO ANY AIRCRAFT OPERATED BY BELARUSIAN AIR CARRIERS,
INCLUDING AS A MARKETING CARRIER IN CODE-SHARING OR BLOCKED-SPACE
ARRANGEMENTS.
PREVIOUS PARAGRAPH SHALL NOT APPLY IN THE CASE OF AN EMERGENCY
LANDING OR AN EMERGENCY OVERFLIGHT. SPANISH AUTHORITIES MAY
DETERMINE NOT APPLICABILITY OF THE PARAGRAPH ABOVE WHEN A LANDING,
TAKE-OFF OR OVERFLIGHT IS REQUIRED FOR HUMANITARIAN PURPOSES OR
ANY OTHER PURPOSES.

B7868/25
ARCC PALMA SERVICE COORDINATOR **AVBL** H24 ONLY FM MON 0800LT
TO SAT 0800LT (NOT HOL).
DURING THE REST OF THE TIME THE SERVICE COORDINATOR WILL HAVE
A REACTION TIME OF ONE HOUR, IN THIS REACTION PERIOD THE SERVICE
WILL BE ASSUMED BY THE ARCC MADRID SERVICE COORDINATOR.

++++++++++++++++++++++++++++ WAYPOINT ++++++++++++++++++++++++++++

B0944/26
TRIGGER NOTAM - PERM AIRAC AIP AMDT 02/26 WEF 19-MAR-26
ENR 4.4.-
- NEW POINTS GELDI AND LEBNI

++++++++++++++++++++++ RESTRICTED AIRSPACE ++++++++++++++++++++++

D1335/26
MAR 18-20 24-27 0600-2200, APR 08-10 0600-2200, MAY 05-08 19-22 ,
0600-2200, JUN 03-05 0600-2200, SEP 03-05 16-18 0600-2200, OCT
20-23 , 0600-2200, NOV 03-07 17-20 0600-2200
SAR EXERCISES WITH LIFE RAFT CHAINS AND FLARES LAUNCHING
WI 395400N 0030400E, 400600N 0031600E, 395600N 0032900E,
395100N 0030600E, 395400N 0030400E
MALLORCA/POLLENSA
RMK: THE ACTIVATION/DEACTIVATION OF THIS AREA WILL BE CARRIED OUT
IN REAL TIME BY TACTICAL COORDINATION WITH ECAO (OPERATIVE
AIR TRAFFIC SQUADRON) BARCELONA.
F) SFC G) 03500FT AMSL
R0652/26
UNMANNED ACFT FLYING WI COORD:
393034N 0023157E - 393032N 0023206E - 393029N 0023204E -
393027N 0023156E - 393034N 0023157E
F) SFC G) 00120M AGL
R0639/26
1925-2200
SWARM 1000 UNMANNED ACFT FLYING WI COORD 414112N 0011452E -
414110N 0011502E - 414123N 0011537E - 414142N 0011454E -
414112N 0011452E
CERVERA, LERIDA.
F) SFC G) 00120M AGL
D0660/26
12 1000-1300 1500-2000, 16 24-26 0700-1300 1500-2000
TEMPORARY SEGREGATED AREA FOR UNMANNED AIRCRAFT VEHICLE
FLYING **ACTIVATED** WI 383000N 0004400W, 383000N 0003800W,
382500N 0003800W, 382500N 0004400W, 383000N 0004400W
(LATERAL LIMITS COINCIDENTAL WITH LED66)
ALICANTE/AGOST
RMK: THE ACTIVATION/DEACTIVATION OF THIS AREA WILL BE CARRIED OUT
IN REAL TIME BY TACTICAL COORDINATION WITH ECAO (OPERATIVE
AIR TRAFFIC SQUADRON) BARCELONA
F) SFC G) 05000FT AMSL
D1018/26
11 1300-1700, 18 1000-2000, 19 1000-1400, 24 0900-2359, 25 ,
0900-2000
LED67 **ACTIVATED** FOR REAL GUN FIRING.
RMK: THE AREA WILL BE TREATED AS TSA.
RMK: THE ACTIVATION/DEACTIVATION OF THIS AREA WILL BE CARRIED OUT
IN REAL TIME BY TACTICAL COORDINATION WITH ECAO (OPERATIVE
AIR TRAFFIC SQUADRON) BARCELONA.
F) SFC G) FL065

D0602/26

MAR 02-03 06 13 20 27 0800-1400, MAR 05 09-12 16-19 23-26 ,
0800-1400 1800-2300, MAR 30-31 0700-1300 1700-2200, APR 01-02 ,
0700-1300 1700-2200, APR 03 0700-1300
AIR EXERCISES HPMA (HIGH PERFORMANCE MILITARY AIRCRAFT)
WI 422543N 0010839W, 415500N 0001300E, 413643N 0000803E,
413916N 0003659W, 414711N 0003817W, 415636N 0004726W,
415938N 0010354W, 422543N 0010839W
ZARAGOZA/AREA 1-2-3
RMK: IFR FLT ARR/DEP LEHC WILL NOT BE AFFECTED BY THIS ACTIVITY.
RMK: ATS ROUTE P152 SHALL REMAIN FLIGHT PLANNABLE FOR GENERAL
AIR TRAFFIC, OPERATING UNDER TACTICAL COORDINATION
WITH TACC ZARAGOZA.
RMK: THE ACTIVATION/DEACTIVATION OF THIS AREA WILL BE CARRIED OUT
IN REAL TIME BY TACTICAL COORDINATION WITH TACC ZARAGOZA.
F) FL070 G) FL240

D0951/26
TEMPORARY SEGREGATED AREAS FOR UNMANNED AIRCRAFT VEHICLES
FLYING **ACTIVATED** AS FOLLOWS:
THE ACTIVATION/DEACTIVATION OF THESE AREAS WILL BE CARRIED OUT
IN REAL TIME BY TACTICAL COORDINATION WITH THE APROPRIATE ECAO
(OPERATIVE AIR TRAFFIC SQUADRON) OR APP IN EACH AREA.
SEGREGATED AREAS:
TSA TALAVERA LOW AUTOMATICO
LATERAL LIMITS: CIRCLE OF 08NM RADIUS CENTRED ON
385329N 0064917W.
VERTICAL LIMITS: SFC/5000FT AMSL
DATES AND TIMES: MAR 17 HR 1930-2359
MAR 18 HR 0000-0700
RMK: EXCEPTED FLT (EMERGENCY SITUATIONS) MUST COORDINATE WITH ATC
UNIT APPROPIATE PROCEDURE, IF DEACTIVATION IS NOT FEASIBLE
BEFORE ENTERING THE AREA.
RMK: ANY FLT INTERESTED IN USING AFFECTED AIRSPACE MUST CONTACT
WITH TALAVERA APP/TWR IN ORDER TO UPDATE ACTIVATION STATUS.
TSA TALAVERA LOW
LATERAL LIMITS: CIRCLE OF 5,9NM RADIUS CENTRED ON
385329N 0064917W.
VERTICAL LIMITS: SFC/2500FT AMSL
LATERAL LIMITS: CIRCLE OF 08NM RADIUS CENTRED ON
385329N 0064917W.
VERTICAL LIMITS: 2500FT/5000FT AMSL
DATES AND TIMES: MAR 17 HR 1930-2359
MAR 18 HR 0000-0700
RMK: EXCEPTED FLT (EMERGENCY SITUATIONS) MUST COORDINATE WITH ATC
UNIT APPROPIATE PROCEDURE, IF DEACTIVATION IS NOT FEASIBLE
BEFORE ENTERING THE AREA.
RMK: ANY FLT INTERESTED IN USING AFFECTED AIRSPACE MUST CONTACT
WITH TALAVERA APP/TWR IN ORDER TO UPDATE ACTIVATION STATUS.
END PART 1 OF 13

TSA TALAVERA LOW NORTH
LATERAL LIMITS: 385658N 0065446W, 385036N 0064303W,
FROM THIS POINT FOLLOWING AN ARC OF 5,9NM
RADIUS CENTRED ON 385329N 0064917W
COUNTER CLOCKWISE UP TO 385658N 0065446W.
VERTICAL LIMITS: SFC/2500FT AMSL
LATERAL LIMITS: 385821N 0065723W, 384911N 0064030W,
FROM THIS POINT FOLLOWING AN ARC OF 08NM
RADIUS CENTRED ON 385329N 0064917W
COUNTER CLOCKWISE UP TO 385821N 0065723W.
VERTICAL LIMITS: 2500FT AMSL/5000FT AMSL
DATES AND TIMES: MAR 17 HR 1930-2359
MAR 18 HR 0000-0700
RMK: EXCEPTED FLT (EMERGENCY SITUATIONS) MUST COORDINATE WITH ATC
UNIT APPROPIATE PROCEDURE, IF DEACTIVATION IS NOT FEASIBLE
BEFORE ENTERING THE AREA.
RMK: ANY FLT INTERESTED IN USING AFFECTED AIRSPACE MUST CONTACT
WITH TALAVERA APP/TWR IN ORDER TO UPDATE ACTIVATION STATUS.
TSA TALAVERA LOW SOUTH
LATERAL LIMITS: 385609N 0065527W, 384948N 0064351W,
FROM THIS POINT FOLLOWING AN ARC OF 5,9NM
RADIUS CENTRED ON 385329N 0064917W
CLOCKWISE UP TO 385609N 0065527W.
VERTICAL LIMITS: SFC/2500FT AMSL
LATERAL LIMITS: 385734N 0065803W, 384821N 0064118W,
FROM THIS POINT FOLLOWING AN ARC OF 08NM
RADIUS CENTRED ON 385329N 0064917W
CLOCKWISE UP TO 385734N 0065803W.

VERTICAL LIMITS: 2500FT AMSL/5000FT AMSL
DATES AND TIMES: MAR 17 HR 1930-2359
MAR 18 HR 0000-0700
RMK: EXCEPTED FLT (EMERGENCY SITUATIONS) MUST COORDINATE WITH ATC
UNIT APPROPIATE PROCEDURE, IF DEACTIVATION IS NOT FEASIBLE
BEFORE ENTERING THE AREA.
RMK: ANY FLT INTERESTED IN USING AFFECTED AIRSPACE MUST CONTACT
WITH TALAVERA APP/TWR IN ORDER TO UPDATE ACTIVATION STATUS.
TSA TALAVERA MEDIUM
LATERAL LIMITS: CIRCLE OF 08NM RADIUS CENTRED ON
385329N 0064917W.
VERTICAL LIMITS: 4000FT AMSL/FL080
DATES AND TIMES: MAR 17 HR 1930-2359
MAR 18 HR 0000-0700
RMK: EXCEPTED FLT (EMERGENCY SITUATIONS) MUST COORDINATE WITH ATC
UNIT APPROPIATE PROCEDURE, IF DEACTIVATION IS NOT FEASIBLE
BEFORE ENTERING THE AREA.
RMK: ANY FLT INTERESTED IN USING AFFECTED AIRSPACE MUST CONTACT
WITH TALAVERA APP/TWR IN ORDER TO UPDATE ACTIVATION STATUS.
TSA TALAVERA HIGH
LATERAL LIMITS: 391229N 0064931W, 390454N 0062537W,
383332N 0064905W, 384300N 0070639W,
391229N 0064931W.
VERTICAL LIMITS: 7000FT AMSL/FL140
DATES AND TIMES: MAR 17 HR 1930-2359
MAR 18 HR 0000-0700
RMK: ANY FLT INTERESTED IN USING AFFECTED AIRSPACE MUST CONTACT
WITH TALAVERA APP/TWR IN ORDER TO UPDATE ACTIVATION STATUS.
TSA TALAVERA HIGH SOUTH
LATERAL LIMITS: 384300N 0070639W, 383332N 0064905W,

384953N 0063651W, 385525N 0065926W,
384300N 0070639W.
VERTICAL LIMITS: 7000FT AMSL/FL140
DATES AND TIMES: MAR 17 HR 1930-2359
MAR 18 HR 0000-0700
RMK: ANY FLT INTERESTED IN USING AFFECTED AIRSPACE MUST CONTACT
WITH TALAVERA APP/TWR IN ORDER TO UPDATE ACTIVATION STATUS.
TSA TALAVERA HIGH NORTH
LATERAL LIMITS: 391229N 0064932W, 390454N 0062537W,
384953N 0063651W, 385525N 0065926W,
391229N 0064932W.
VERTICAL LIMITS: 7000FT AMSL/FL140
DATES AND TIMES: MAR 17 HR 1930-2359
MAR 18 HR 0000-0700
RMK: ANY FLT INTERESTED IN USING AFFECTED AIRSPACE MUST CONTACT
WITH TALAVERA APP/TWR IN ORDER TO UPDATE ACTIVATION STATUS.
TSA LAST SIX LOW
LATERAL LIMITS: CIRCLE OF 04NM RADIUS CENTRED ON
390120N 0064400W.
VERTICAL LIMITS: SFC/FL260
DATES AND TIMES: MAR 17 HR 1930-2359
MAR 18 HR 0000-0700
RMK: ANY FLT INTERESTED IN USING AFFECTED AIRSPACE MUST CONTACT
WITH TALAVERA APP/TWR IN ORDER TO UPDATE ACTIVATION STATUS.
TSA LAST SIX HIGH
LATERAL LIMITS: CIRCLE OF 04NM RADIUS CENTRED ON
390120N 0064400W.
VERTICAL LIMITS: FL250/FL350
DATES AND TIMES: MAR 17 HR 1930-2359
MAR 18 HR 0000-0700

RMK: ANY FLT INTERESTED IN USING AFFECTED AIRSPACE MUST CONTACT
WITH TALAVERA APP/TWR IN ORDER TO UPDATE ACTIVATION STATUS.

TSA SECTOR 5
LATERAL LIMITS: 381410N 0065147W, 381134N 0070505W,
382701N 0071726W, 384416N 0071216W,
384728N 0065940W, 384459N 0065521W,
384308N 0064814W, 381410N 0065147W.
VERTICAL LIMITS: FL100/FL350
DATES AND TIMES: MAR 17 HR 1930-2359
MAR 18 HR 0000-0700
RMK: ANY FLT INTERESTED IN USING AFFECTED AIRSPACE MUST CONTACT
WITH TALAVERA APP/TWR IN ORDER TO UPDATE ACTIVATION STATUS.
TSA SECTOR 5 LOW
LATERAL LIMITS: 381410N 0065147W, 381134N 0070505W,
382701N 0071726W, 384416N 0071216W,
384728N 0065940W, 384459N 0065521W,
384308N 0064814W, 381410N 0065147W.
VERTICAL LIMITS: FL100/FL150
DATES AND TIMES: MAR 17 HR 1930-2359
MAR 18 HR 0000-0700
RMK: ANY FLT INTERESTED IN USING AFFECTED AIRSPACE MUST CONTACT
WITH TALAVERA APP/TWR IN ORDER TO UPDATE ACTIVATION STATUS.
TSA SECTOR 5 HIGH
LATERAL LIMITS: 381410N 0065147W, 381134N 0070505W,
382701N 0071726W, 384416N 0071216W,
384728N 0065940W, 384459N 0065521W,
384308N 0064814W, 381410N 0065147W.
VERTICAL LIMITS: FL150/FL350
DATES AND TIMES: MAR 17 HR 1930-2359
MAR 18 HR 0000-0700
RMK: ANY FLT INTERESTED IN USING AFFECTED AIRSPACE MUST CONTACT
END PART 5 OF 13

WITH TALAVERA APP/TWR IN ORDER TO UPDATE ACTIVATION
STATUS. TSA ZAFRA EAST
LATERAL LIMITS: 383208N 0055329W, 380625N 0060155W,
375951N 0060826W, 383800N 0063728W,
383951N 0063412W, 384401N 0063002W,
383208N 0055329W.
VERTICAL LIMITS: FL260/FL350
DATES AND TIMES: MAR 17 HR 1930-2359
MAR 18 HR 0000-0700
RMK: ANY FLT INTERESTED IN USING AFFECTED AIRSPACE MUST CONTACT
WITH TALAVERA APP/TWR IN ORDER TO UPDATE ACTIVATION STATUS.
TSA ZAFRA WEST
LATERAL LIMITS: 375951N 0060826W, 374856N 0062400W,
380157N 0065306W, 383549N 0064908W,
383601N 0064437W, 383800N 0063728W,
375951N 0060826W.
VERTICAL LIMITS: FL260/FL350
DATES AND TIMES: MAR 17 HR 1930-2359
MAR 18 HR 0000-0700
RMK: ANY FLT INTERESTED IN USING AFFECTED AIRSPACE MUST CONTACT
WITH TALAVERA APP/TWR IN ORDER TO UPDATE ACTIVATION STATUS.
TSA FITA
LATERAL LIMITS: 363246N 0063706W, 363020N 0063736W,
363121N 0064944W, 363326N 0064946W,
364443N 0064943W, 365729N 0063252W,
371030N 0063723W, 371540N 0061153W,
371526N 0055503W, 364638N 0060004W,
363246N 0063706W.

VERTICAL LIMITS: FL245/FL275
DATES AND TIMES: MAR 18 HR 0000-0530
TSA PASILLO ZAFRA
LATERAL LIMITS: 383244N 0065303W, 375354N 0063241W,

380343N 0065655W, 383244N 0065303W.
VERTICAL LIMITS: FL245/FL275
DATES AND TIMES: MAR 02 09 24 25 HR 0700-1900
MAR 17 HR 1600-2359
MAR 18 HR 0000-0700
MAR 30 HR 0600-1800
RMK: ANY FLT INTERESTED IN USING AFFECTED AIRSPACE MUST CONTACT WITH TALAVERA APP/TWR IN ORDER TO UPDATE ACTIVATION STATUS.
TSA PASILLO HUELVA WHISKY
LATERAL LIMITS: 380456N 0064521W, 375913N 0063315W,
375048N 0070541W, 373231N 0071738W,
372835N 0071609W, 372806N 0071315W,
372841N 0070930W, 371546N 0070423W,
371642N 0071421W, 371950N 0071533W,
372106N 0072431W, 373321N 0072911W,
375753N 0071313W, 380456N 0064521W.
VERTICAL LIMITS: FL245/FL275
DATES AND TIMES: MAR 02 09 24 25 HR 0700-1900
MAR 17 HR 1600-2359
MAR 18 HR 0000-0700
MAR 30 HR 0600-1800
TSA PASILLO HUELVA
LATERAL LIMITS: 380535N 0064722W, 380020N 0063559W,
371840N 0070733W, 372027N 0071943W,
380535N 0064722W.
VERTICAL LIMITS: FL245/FL275
DATES AND TIMES: MAR 02 09 24 25 HR 0700-1900
MAR 17 HR 1600-2359
MAR 18 HR 0000-0700
MAR 30 HR 0600-1800
RMK: THE AREA WILL BE PLANNABLE WITH ACTIVATION/DEACTIVATION BY

TACTICAL COORDINATION WITH ECAO (OPERATIVE AIR TRAFFIC SQUADRON) SEVILLA.
TSA ANDEVALO
LATERAL LIMITS: 372343N 0071707W, 372516N 0070807W,
370053N 0065830W, 365908N 0070718W,
372343N 0071707W.
VERTICAL LIMITS: FL245/FL275
DATES AND TIMES: MAR 02 09 24 25 HR 0700-1900
MAR 17 HR 1600-2359
MAR 18 HR 0000-0700
MAR 30 HR 0600-1800
RMK: THE AREA WILL BE PLANNABLE WITH ACTIVATION/DEACTIVATION BY TACTICAL COORDINATION WITH ECAO (OPERATIVE AIR TRAFFIC SQUADRON) SEVILLA.
TSA GOLFO
LATERAL LIMITS: 365532N 0072130W, 370423N 0070923W,
370536N 0070136W, 365032N 0064303W,
363556N 0064301W, 363452N 0063303W,
355130N 0064230W, 355700N 0072130W,
365532N 0072130W.
VERTICAL LIMITS: FL245/FL275
DATES AND TIMES: MAR 02 09 24 25 HR 0700-1900
MAR 17 HR 1600-2359
MAR 18 HR 0000-0700
MAR 30 HR 0600-1800

TSA PASILLO GOLFO NORTH
LATERAL LIMITS: 370324N 0071202W, 370538N 0070010W,
362751N 0064849W, 362544N 0070058W,
370324N 0071202W.
VERTICAL LIMITS: FL245/FL275
DATES AND TIMES: MAR 02 09 24 25 HR 0700-1900
MAR 17 HR 1600-2359
MAR 18 HR 0000-0700
MAR 30 HR 0600-1800
END PART 8 OF 13

RMK: THE AREA WILL BE PLANNABLE WITH ACTIVATION/DEACTIVATION
BY TACTICAL COORDINATION WITH ECAO (OPERATIVE AIR TRAFFIC
SQUADRON) SEVILLA.
TSA PASILLO GOLFO SOUTH
LATERAL LIMITS: 363035N 0070224W, 363249N 0065021W,
355048N 0063726W, 355029N 0065044W,
363035N 0070224W.
VERTICAL LIMITS: FL245/FL275
DATES AND TIMES: MAR 02 09 24 25 HR 0700-1900
MAR 17 HR 1600-2359
MAR 18 HR 0000-0700
MAR 30 HR 0600-1800
RMK: THE AREA WILL BE PLANNABLE WITH ACTIVATION/DEACTIVATION BY
TACTICAL COORDINATION WITH ECAO (OPERATIVE AIR TRAFFIC
SQUADRON) SEVILLA.
TSA ESTRECHO 1W
LATERAL LIMITS: 355827N 0064739W, 355832N 0061514W,
355117N 0062132W, 355037N 0064945W,
355827N 0064739W.
VERTICAL LIMITS: FL245/FL275
DATES AND TIMES: MAR 02 09 24 25 HR 0700-1900
MAR 17 HR 1600-2359
MAR 18 HR 0000-0700
MAR 30 HR 0600-1800
RMK: THE AREA WILL BE PLANNABLE WITH ACTIVATION/DEACTIVATION BY
TACTICAL COORDINATION WITH ECAO (OPERATIVE AIR TRAFFIC
SQUADRON) SEVILLA.
TSA ESTRECHO 1E
LATERAL LIMITS: 355108N 0062449W, 355834N 0061829W,
355838N 0055331W, 355202N 0055256W,
355108N 0062449W.
VERTICAL LIMITS: FL245/FL275
DATES AND TIMES: MAR 02 09 24 25 HR 0700-1900

MAR 17 HR 1600-2359
MAR 18 HR 0000-0700
MAR 30 HR 0600-1800
RMK: THE AREA WILL BE PLANNABLE WITH ACTIVATION/DEACTIVATION BY
TACTICAL COORDINATION WITH ECAO (OPERATIVE AIR TRAFFIC
SQUADRON) SEVILLA.
TSA ESTRECHO 2
LATERAL LIMITS: 355211N 0055413W, 355700N 0052900W,
355551N 0050739W, 360501N 0050012W,
360457N 0052249W, 360104N 0055442W,
355211N 0055413W.
VERTICAL LIMITS: FL245/FL275
DATES AND TIMES: MAR 02 09 24 25 HR 0700-1900
MAR 17 HR 1600-2359
MAR 18 HR 0000-0700
MAR 30 HR 0600-1800
TSA ESTRECHO 3

LATERAL LIMITS: 355551N 0050937W, 355545N 0045332W,
360450N 0044817W, 360455N 0050217W,
355551N 0050937W.
VERTICAL LIMITS: FL245/FL275
DATES AND TIMES: MAR 02 09 24 25 HR 0700-1900
MAR 17 HR 1600-2359
MAR 18 HR 0000-0700
MAR 30 HR 0600-1800
RMK: THE AREA WILL BE PLANNABLE WITH ACTIVATION/DEACTIVATION BY
TACTICAL COORDINATION WITH ECAO (OPERATIVE AIR TRAFFIC
SQUADRON) SEVILLA.
TSA CORREDOR SUR 1 HIGH
LATERAL LIMITS: 355043N 0034221W, 361034N 0040128W,
361010N 0044002W, 360451N 0044340W,
360451N 0045319W, 355549N 0050024W,
355543N 0045005W, 355007N 0045348W,

355043N 0034221W.
VERTICAL LIMITS: FL245/FL275
DATES AND TIMES: MAR 02 09 24 25 HR 0700-1900
MAR 17 HR 1600-2359
MAR 18 HR 0000-0700
MAR 30 HR 0600-1800
TSA CORREDOR SUR 1 MEDIUM
LATERAL LIMITS: 355043N 0034221W, 361034N 0040128W,
361010N 0044002W, 360451N 0044340W,
360451N 0045319W, 355549N 0050024W,
355543N 0045005W, 355007N 0045348W,
355043N 0034221W.
VERTICAL LIMITS: FL175/FL265
DATES AND TIMES: MAR 02 09 24 25 HR 0700-1900
MAR 17 HR 1600-2359
MAR 18 HR 0000-0700
MAR 30 HR 0600-1800
RMK: THE AREA WILL BE PLANNABLE WITH ACTIVATION/DEACTIVATION BY
TACTICAL COORDINATION WITH ECAO (OPERATIVE AIR TRAFFIC
SQUADRON) SEVILLA.
TSA CORREDOR SUR 1 LOW
LATERAL LIMITS: 355043N 0034221W, 361034N 0040128W,
361010N 0044002W, 360451N 0044340W,
360451N 0045319W, 355549N 0050024W,
355543N 0045005W, 355007N 0045348W,
355043N 0034221W.
VERTICAL LIMITS: FL170/FL190
DATES AND TIMES: MAR 02 09 24 25 HR 0700-1900
MAR 17 HR 1600-2359
MAR 18 HR 0000-0700
MAR 30 HR 0600-1800
TSA CORREDOR SUR 2 HIGH
LATERAL LIMITS: 361038N 0040932W, 361032N 0023609W,

355042N 0025436W, 355037N 0035013W,
361038N 0040932W.
VERTICAL LIMITS: FL245/FL275
DATES AND TIMES: MAR 02 09 24 25 HR 0700-1900
MAR 17 HR 1600-2359
MAR 18 HR 0000-0700
MAR 30 HR 0600-1800
TSA CORREDOR SUR 2 LOW
LATERAL LIMITS: 361038N 0040932W, 361032N 0023609W,
355042N 0025436W, 355037N 0035013W,
361038N 0040932W.

VERTICAL LIMITS: FL170/FL190
DATES AND TIMES: MAR 02 09 24 25 HR 0700-1900
MAR 17 HR 1600-2359
MAR 18 HR 0000-0700
MAR 30 HR 0600-1800
TSA CORREDOR SUR 3 HIGH
LATERAL LIMITS: 361033N 0024402W, 361033N 0021433W,
362221N 0015804W, 355041N 0020607W,
355041N 0030223W, 361033N 0024402W.
VERTICAL LIMITS: FL245/FL275
DATES AND TIMES: MAR 02 09 24 25 HR 0700-1900
MAR 17 HR 1600-2359
MAR 18 HR 0000-0700
MAR 30 HR 0600-1800
TSA CORREDOR SUR 3 LOW
LATERAL LIMITS: 361033N 0024402W, 361033N 0021433W,
362221N 0015804W, 355041N 0020607W,
355041N 0030223W, 361033N 0024402W.
VERTICAL LIMITS: FL170/FL190
DATES AND TIMES: MAR 02 09 24 25 HR 0700-1900
MAR 17 HR 1600-2359
MAR 18 HR 0000-0700
MAR 30 HR 0600-1800

TSA CORREDOR SUR 4
LATERAL LIMITS: 361658N 0020533W, 363151N 0014434W,
365059N 0005929W, 363323N 0004752W,
361447N 0013118W, 355041N 0020607W,
355039N 0021206W, 361658N 0020533W.
VERTICAL LIMITS: FL170/FL190
DATES AND TIMES: MAR 09 24 HR 0700-1900
TSA CORREDOR SUR 5
LATERAL LIMITS: 364753N 0010415W, 371952N 0001143E,
365804N 0001142E, 363059N 0005316W,
364753N 0010415W.
VERTICAL LIMITS: FL170/FL190
DATES AND TIMES: MAR 09 24 HR 0700-1900
TSA CORREDOR SUR 6
LATERAL LIMITS: 371829N 0000614E, 380228N 0015703E,
374402N 0020706E, 365553N 0000607E,
371829N 0000614E.
VERTICAL LIMITS: FL170/FL190
DATES AND TIMES: MAR 09 24 HR 0700-1900
TSA CORREDOR SUR 7
LATERAL LIMITS: 375951N 0015034E, 374128N 0020041E,
382035N 0034354E, 382256N 0034709E,
383750N 0032956E, 375951N 0015034E.
VERTICAL LIMITS: FL170/FL190
DATES AND TIMES: MAR 09 24 HR 0700-1900
TSA CORREDOR SUR 8
LATERAL LIMITS: 381916N 0034003E, 383417N 0032411E,
392941N 0043931E, 390036N 0043931E,
382034N 0034352E, 381916N 0034003E.
VERTICAL LIMITS: FL170/FL190
DATES AND TIMES: MAR 09 24 HR 0700-1900
F) SFC G) FL350

D0775/26
MAR 02-06 09-13 16-20 23-27 30-31 SR-SS, APR 01-03 06-10 13-17 ,
20-24 27-30 SR-SS, MAY 01 04-08 11-15 SR-SS
TEMPO SEGREGATED AREA **ACTIVATED** FOR UAS WI COORD:
372153N 0013921W
372152N 0013919W
373330N 0012124W
373449N 0011359W
373358N 0011039W
373303N 0011046W
373226N 0011024W
373212N 0010917W
371819N 0013514W
372153N 0013921W
MURCIA, MAZARRON.
RMK:
COORDINATION PHONE NUMBER: +34 600 338 043/ +34 674 384 394
COORDINATION MAIL: INFODRONES(AT)MARINEINSTRUMENTS.ES
F) SFC G) 00120M AGL

D0684/26
MAR 02-06 09-13 16-20 23-27 0500-1900, MAR 30-31 0400-1800
TEMPO SEGREGATED AREA **ACTIVATED** LETS31
MOIA - BARCELONA
RMK:
COOR PHONE NUMBER: +34 689 784 748
F) SFC G) 04500FT AMSL

D0695/26
MAR 01 0800-SS, MAR 04-31 0800-SS
AEROBATICS WILL TAKE PLACE WI 3NM
CENTERED AT COORD 420121N 0002847E
BENABARRE - HUESCA
F) SFC G) 06000FT AMSL

D0909/26
01 03-31 SR-SS, 02 SR-1800
GLIDER, PARAGLINDING OR HANG GLIFER FLYING WILL TAKE PLACE
WI COORD: 422342N 0004433W 421655N 0000434W 420938N 0000458W
421850N 0004506W 422342N 0004433W
HUESCA/ARAGON
F) SFC G) 05740FT AMSL

D0485/26
TEMPO RESTRICTED AREA **ACTIVATED** WI COORD 414413N 0013002E
414710N 0013224E 414514N 0013641E
414215N 0013430E 414413N 0013002E.
BARCELONA.
RMK:
CORDINATION PHONE NUMBER: +34 637 347 070/ +34 673 676 594
CORDINATION MAIL: ITPG8372(AT)MOSSOS.CAT
F) SFC G) 00120M AGL

D0289/26
MON-FRI 0600-1400
TEMPORARY RESTRICTED AREA FOR PJE **ACTIVATED**
WI 01NM RADIUS OF 374514N 0012651W
MURCIA/TOTANA
RMK: THE ACTIVATION/DEACTIVATION OF THIS AREA WILL BE CARRIED OUT
IN REAL TIME BY TACTICAL COORDINATION WITH ECAO (OPERATIVE
AIR TRAFFIC SQUADRON) BARCELONA
F) SFC G) 04300FT AMSL

==========
AREA ENROUTE DEPARTURE - DESTINATION
==========

LECM MADRID FIR/UIR

Please see section EXTENDED AREA AROUND DESTINATION

[Company NOTAM]

==========
CREW ALERT
==========

SB007/14
SUBJECT: AUTO COST INDEXES
WHEN PLANNING A COST INDEX, 2 OPTIONS ARE AVAILABLE. PILOTS MAY EITHER SELECT A SPECIFIC COST INDEX NUMBER FROM THE LIST, OR THEY MAY SELECT "AUTO". WHEN PLANNING AN "AUTO" COST INDEX, THE SYSTEM WILL REFERENCE THE SCHEDULED "TIME ENROUTE" OPTION AND ATTEMPT TO CHOOSE A COST INDEX WHICH CLOSELY MATCHES THIS VALUE. NOTE THAT THE "TIME ENROUTE" OPTION IS MEANT AS A GATE TO GATE TIME (AS INDICATED ON AN AIRLINE'S FLIGHT SCHEDULE, FOR EXAMPLE). IF A "TIME ENROUTE" OF 2:30 IS SELECTED, THE SYSTEM WILL SUBTRACT THE TAXI TIMES FROM THIS VALUE TO DETERMINE THE SCHEDULED AIR TIME. IT WILL THEN DETERMINE AND USE THE COST INDEX WHICH MATCHES THIS AIR TIME.

SB003/13
SUBJECT: FLIGHT RELEASE UNITS
ALL FLIGHT CREW: PLEASE PAY SPECIAL ATTENTION TO THE UNITS SELECTION WHEN GENERATING A FLIGHT PLAN. FAILURE TO IDENTIFY THE CORRECT UNITS WHEN REFUELING PRIOR TO FLIGHT CAN RESULT IN DEPARTING WITH INSUFFICIENT FUEL AND/OR AN ERRONEOUS PAYLOAD.

==========
CREW BULLETIN
==========

NIL

========== END OF LIDO-NOTAM-BULLETIN ==========

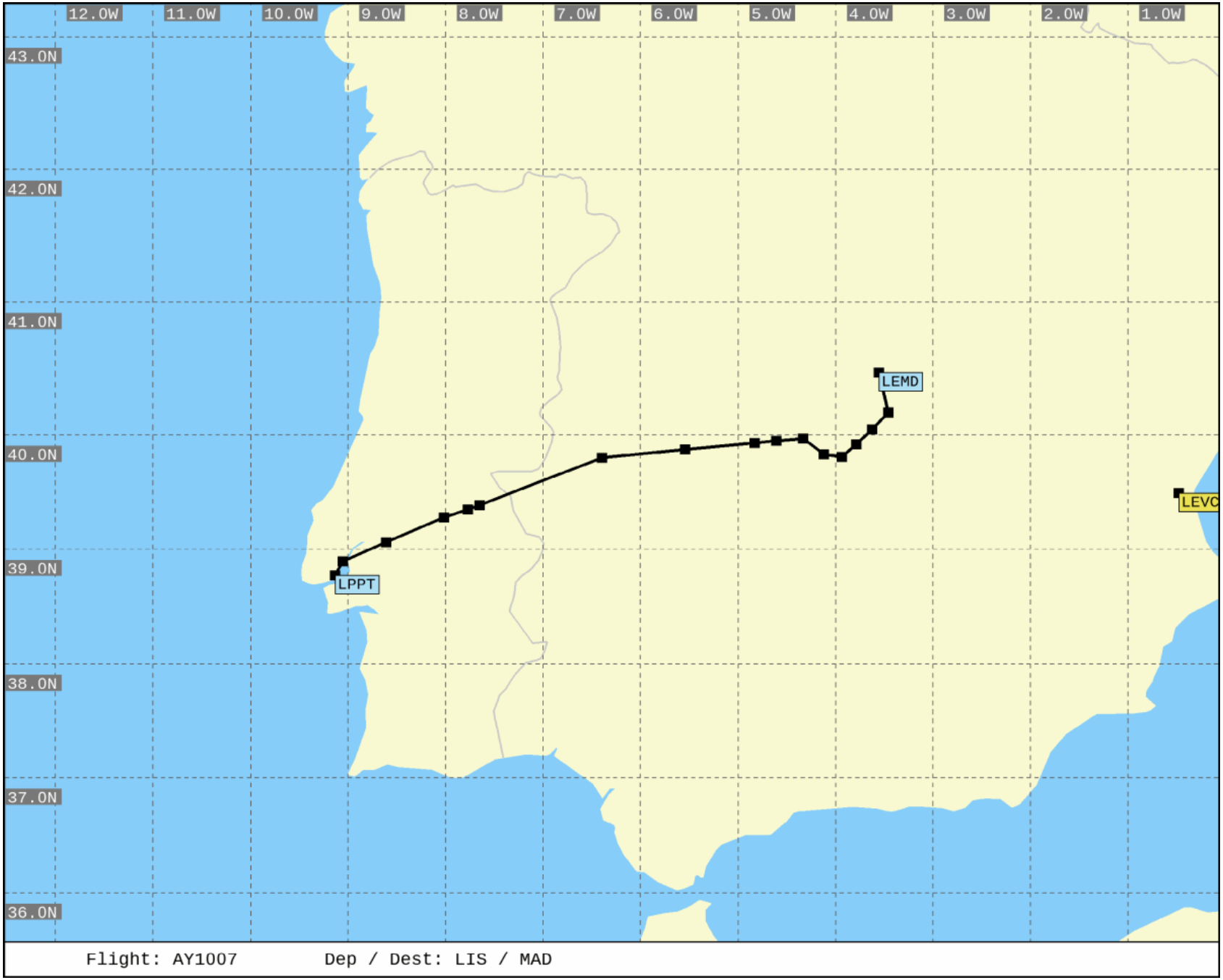
12.0W
11.0W
10.0W
9.0W
8.0W
7.0W
6.0W
5.0W
4.0W
3.0W
2.0W
1.0W
43.0N
42.0N
41.0N
40.0N
39.0N
38.0N
37.0N
36.0N
LEMD
LEVC
LPPT
Flight: AY1007
Dep / Dest: LIS / MAD

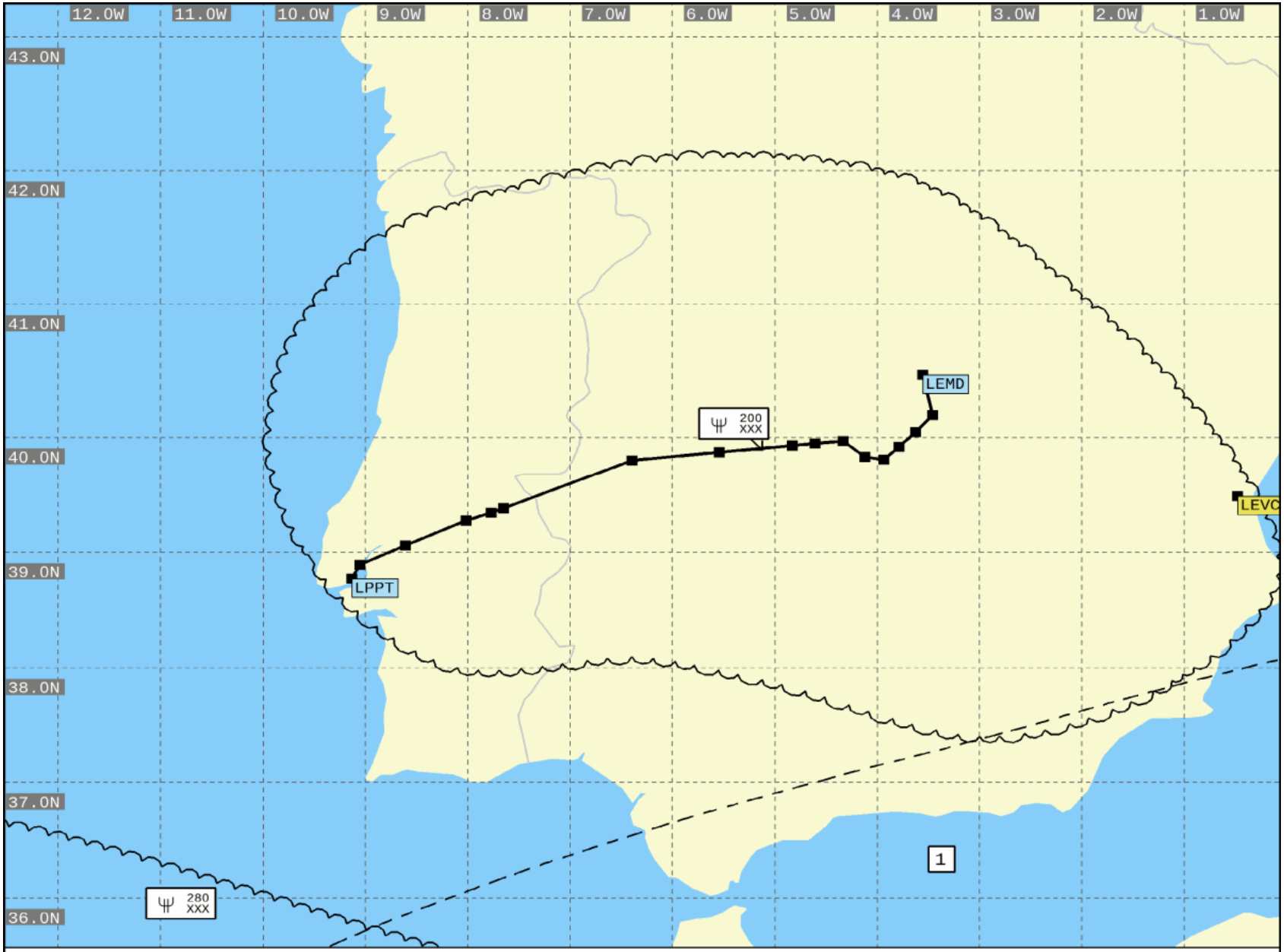

SIG WX FL 100-450 WASHINGTON 1 400 160
VALID 18 UTC ON 21.Mar.2026

Flight: AY1007 Dep / Dest: LIS / MAD

SIG WX FL 250-630 WASHINGTON
VALID 18 UTC ON 21.Mar.2026

1 400 XXX

Flight: AY1007 Dep / Dest: LIS / MAD

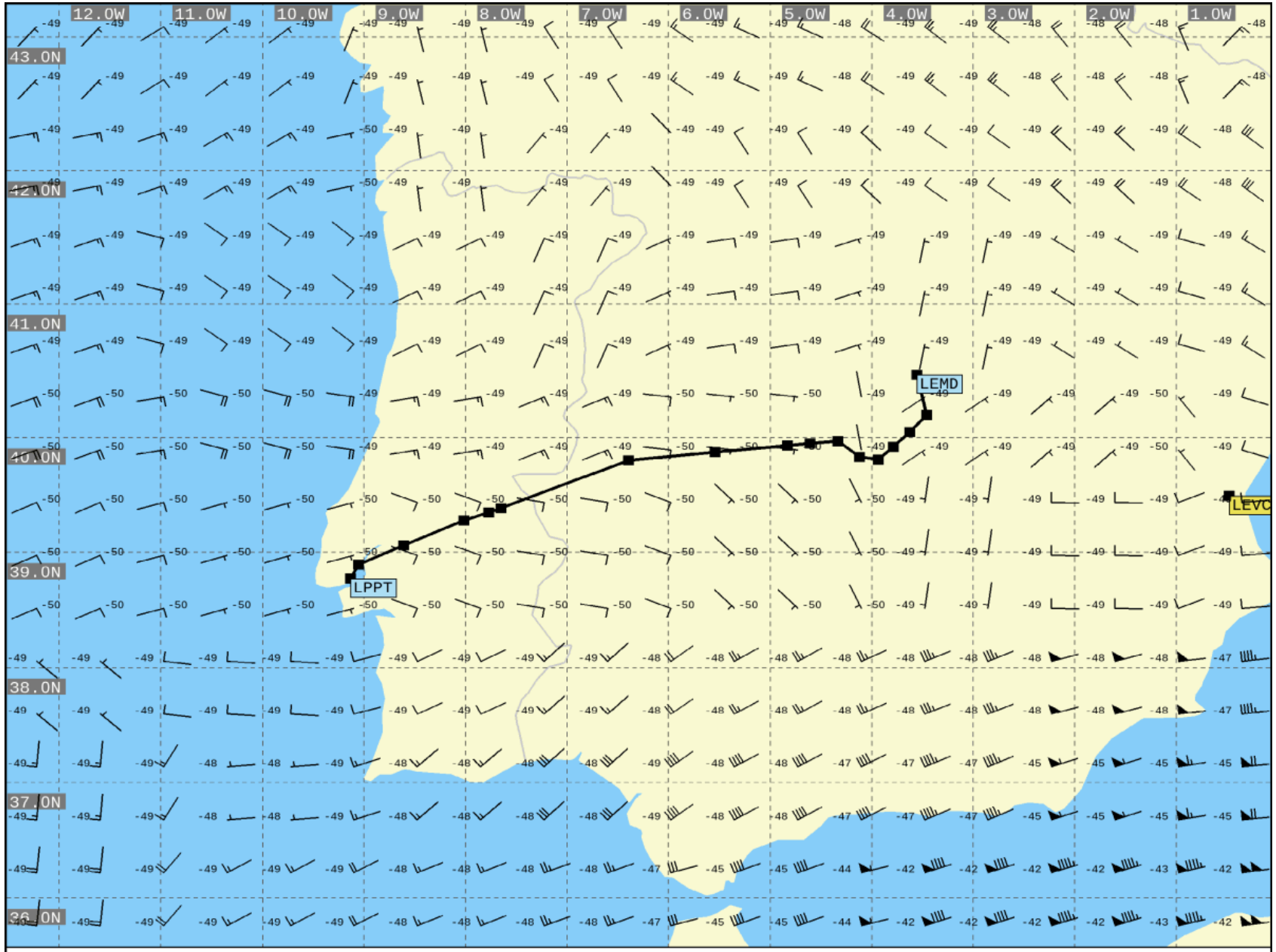

UAD VALID 18 UTC ON 21.Mar.2026 06h FL 300

Flight: AY1007 Dep / Dest: LIS / MAD

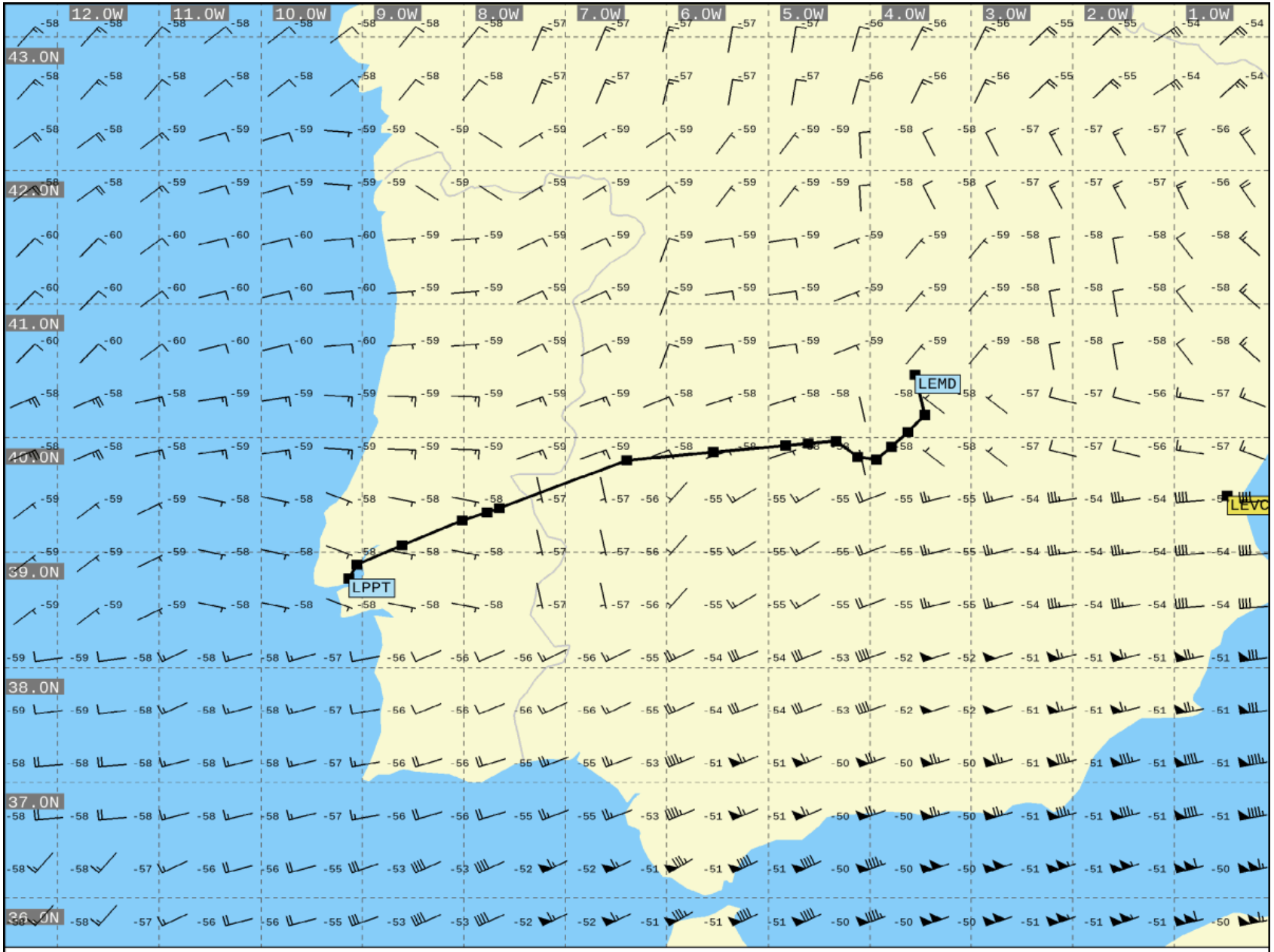

UAD VALID 18 UTC ON 21.Mar.2026 06h FL 340

Flight: AY1007 Dep / Dest: LIS / MAD

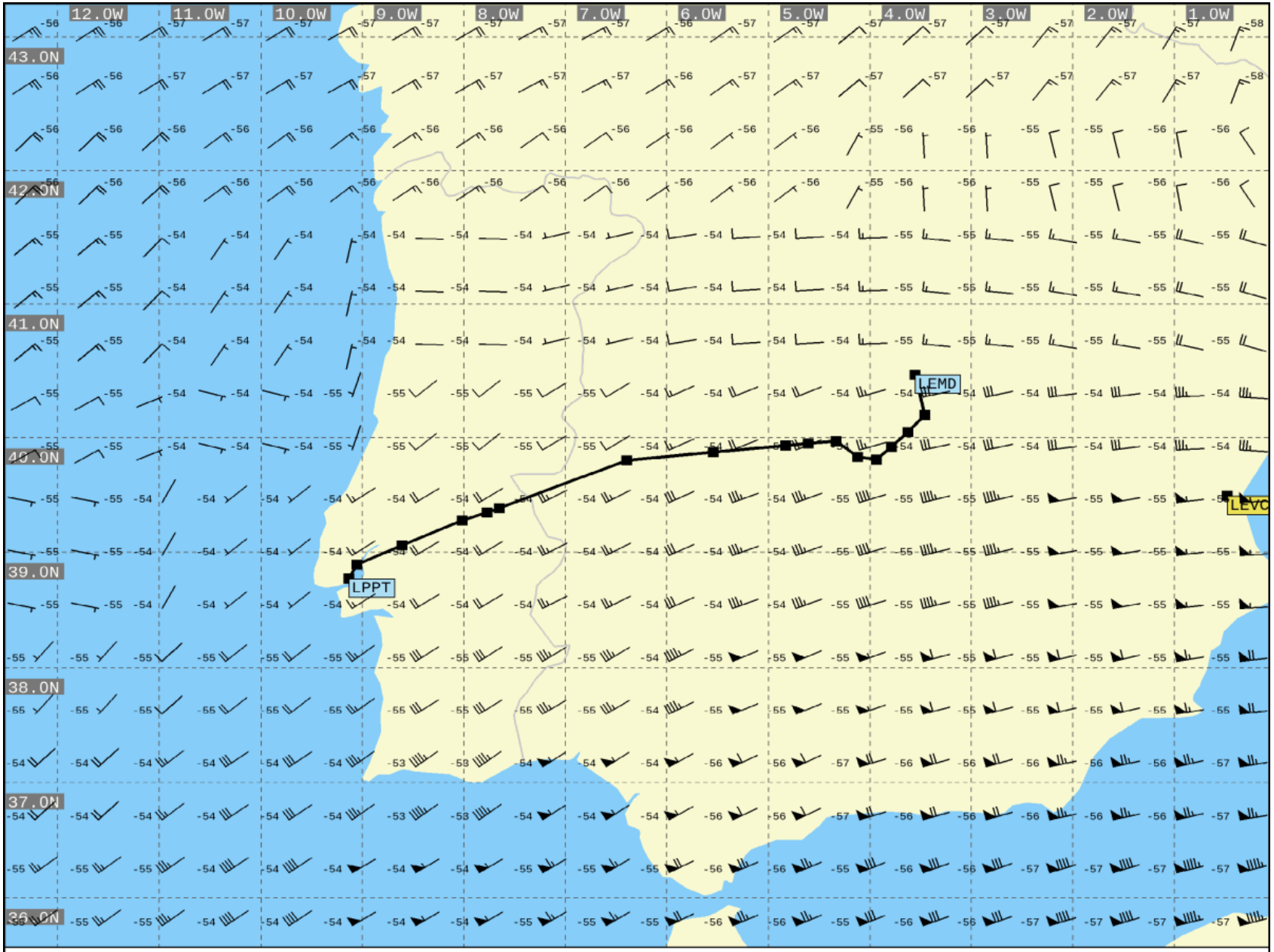

UAD VALID 18 UTC ON 21.Mar.2026 06h FL 390

Flight: AY1007 Dep / Dest: LIS / MAD

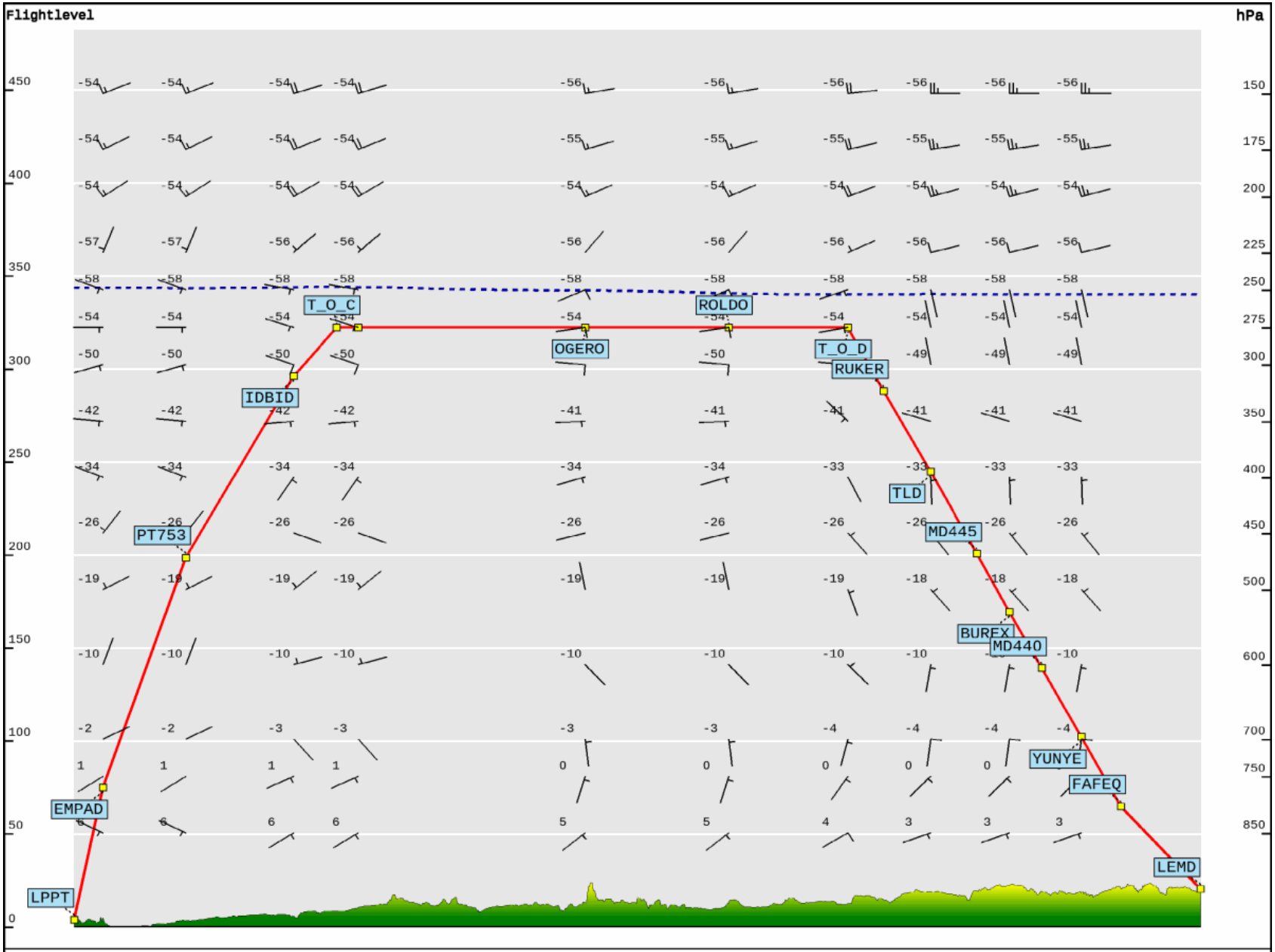

Profile VALID 18 UTC ON 21.Mar.2026 06h Average

Flight: AY1007 Dep / Dest: LIS / MAD

End of Document: Total Number of Pages: 81