[OFP]

```
---------------------------------------------------------------------
FIN1013   22APR2026    LSZH-LIMC   A333 N339SB  RELEASE 1456 22APR26
OFP 1                ZURICH-MALPENSA
                                   WX PROG 2215 2218   OBS 2206 2206

  ATC C/S   FIN1013      LSZH/ZRH   LIMC/MXP      CRZ SYS      CI 99
22APR2026   N339SB       1530/1550  1629/1637     GND DIST       227
A330-300 / TRENT 772                STA  1630     AIR DIST       218
                         CTOT:....                G/C DIST       110
                                                  AVG WIND   335/019
MAXIMUM    TOW 233000  LAW 187000  ZFW 175000     AVG W/C       P014
ESTIMATED  TOW 173666  LAW 169618  ZFW 162252     AVG ISA       M002
                                                  AVG FF KGS/HR 6090
                                                  FUEL BIAS    P00.0
ALTN LIPE                                         TKOF ALTN  .......
FL STEPS LSZH/0220/OMIDO/0240/GERSA/0230/AKASU/0190
---------------------------------------------------------------------
DISP RMKS   NIL

---------------------------------------------------------------------
         PLANNED FUEL
----------------------------------
FUEL           ARPT   FUEL   TIME
----------------------------------
TRIP            MXP   4048   0039
CONT 15 MIN           1522   0015
ALTN            BLQ   3608   0038
FINRES                2236   0030
----------------------------------
MINIMUM T/OFF FUEL   11414   0203
----------------------------------
EXTRA                    0   0000
----------------------------------
T/OFF FUEL           11414   0203
TAXI            ZRH    544   0020
----------------------------------
BLOCK FUEL      ZRH  11958
PIC EXTRA            .....
TOTAL FUEL           .....
REASON FOR PIC EXTRA ............
---------------------------------------------------------------------
FMC INFO:
FINRES+ALTN           5844
TRIP+TAXI             4592
---------------------------------------------------------------------
NO TANKERING RECOMMENDED (P)
---------------------------------------------------------------------
I HEREWITH CONFIRM THAT I HAVE PERFORMED A THOROUGH SELF BRIEFING
ABOUT THE DESTINATION AND ALTERNATE AIRPORTS OF THIS FLIGHT
INCLUDING THE APPLICABLE INSTRUMENT APPROACH PROCEDURES, AIRPORT
FACILITIES, NOTAMS AND ALL OTHER RELEVANT PARTICULAR INFORMATION.

DISPATCHER: COLLEEN BURGESS             PIC NAME: GM, PAYAM

TEL: +1 800 555 0199               PIC SIGNATURE: ...............
```

```
ALTERNATE ROUTE TO:                                          FINRES   2236
APT      TRK DST              VIA                        FL  WC  TIME  FUEL
-----------------------------------------------------------------------
LIPE/12  120 211  OSKOR6P OSKOR DCT NEVNI DCT    270 P019 0038  3608
                  NOBMI DCT ELTAR DCT IDREK DCT
                  ADOSA M738 BENUS BENUS4M
-----------------------------------------------------------------------

MEL/CDL ITEMS DESCRIPTION
------------- -----------

-----------------------------------------------------------------------

ROUTING:

ROUTE ID: DEFRTE
LSZH/16 VEBIT4S VEBIT T53 GERSA DCT SOSON DCT DEGAD DCT BASGO Z424
RIXUV RIXUV3E LIMC/35R

-----------------------------------------------------------------------
DEPARTURE ATC CLEARANCE:
.
.
.
-----------------------------------------------------------------------
                         OPERATIONAL IMPACTS
                         -------------------
WEIGHT CHANGE UP 1.0          TRIP  P 0026 KGS   TIME M 0000
WEIGHT CHANGE DN 1.0          TRIP  M 0003 KGS   TIME P 0000
FL CHANGE     UP FL1          TRIP  M 0017 KGS   TIME M 0000
FL CHANGE     DN FL1          TRIP  P 0025 KGS   TIME P 0000
FL CHANGE     DN FL2          TRIP  P 0053 KGS   TIME P 0001
SPD CHANGE    CI 0            TRIP  M 0126 KGS   TIME P 0002
SPD CHANGE    CI 300          TRIP  P 0037 KGS   TIME M 0000
-----------------------------------------------------------------------
```

```
---------------------------------------------------------------------
ATIS:
.
.
--------- --------- --------- --------- --------- --------- --------
RVSM: ALT SYS  LEFT:             STBY:             RIGHT:

--------- --------- --------- --------- --------- --------- --------
---------------------------------------------------------------------
                                TIMES
                                -----

               ESTIMATED        SKED              ACTUAL

OUT            1530Z/1730L      1530Z/1730L       ......Z

OFF            1550Z/1750L      1550Z/1750L       ......Z

ON             1629Z/1829L      1622Z/1822L       ......Z

IN             1637Z/1837L      1630Z/1830L       ......Z

BLOCK TIME     0107             0100              ......

---------------------------------------------------------------------
                               WEIGHTS
                               -------

                EST      MAX     ACTUAL

PAX             335              ......

BAG/CARGO       8.4              ......

PAYLOAD        34.9              ......

ZFW           162.3    175.0     ......

FUEL           12.0     29.3     ......  POSS EXTRA 17.4

TOW           173.7    191.0  LDG......

STAB TRIM                        ......

LAW           169.6    187.0     ......

---------------------------------------------------------------------
                       TERRAIN CLEARANCE CHECK
                       -----------------------
DD CHECK - TERRAIN CLEARANCE CHECK DISABLED

DP CHECK - TERRAIN CLEARANCE CHECK DISABLED
---------------------------------------------------------------------
```

FLIGHT LOG

MOST CRITICAL MORA 12900 FEET AT GERSA///MXSHR 07 AT TOD

AWY POSITION IDENT FREQ	LAT LONG	EET TTLT	ETO ATO	FL MORA DIS	IMT ITT RDIS	MN TAS GS	WIND COMP SHR	OAT TDV TRP	EFOB AFOB	PBRN ABRN
					152				11.4	0.5
ZURICH	N4727.5		...	42	155		P003			
LSZH	E00832.9	0000	...		227	264			....	....
VEBIT4S				029	325	.39	010/004	10	10.9	1.0
KLO147001	N4726.6	0001	...	43	328		P003	P01		
D147A	E00833.5	0001	...	2	225	264		348	....	....
VEBIT4S				035	240	.40	010/004	09	10.9	1.1
KLOTEN (ZUR	N4727.4	0000	...	47	243		M003	P01		
KLO	E00832.7	0001	...	1	224	261		348	....	....
114.85										
VEBIT4S				102	239	.54	043/001	M05	10.4	1.6
BREGO	N4723.4	0002	...	46	242		P001	P00		
BREGO	E00820.8	0003	...	9	215	351		349	....	....
VEBIT4S				121	239	.57	063/004	M09	10.2	1.8
ZH554	N4721.3	0001	...	48	242		P004	P00		
ZH554	E00814.9	0004	...	4	211	365		349	....	....
VEBIT4S				143	239	.59	056/008	M14	10.0	2.0
ZH558	N4719.1	0001	...	49	242		P008	P00		
ZH558	E00808.7	0005	...	5	206	381		349	....	....
VEBIT4S				167	090	.62	035/009	M20	9.8	2.2
VEBIT	N4716.1	0001	...	50	093		P008	M02		
VEBIT	E00800.3	0006	...	6	200	395		349	....	....
T53				206	090	.67	348/017	M29	9.4	2.5
OBEDU	N4715.5	0001	...	50	093		P004	M03		
OBEDU	E00815.3	0007	...	10	190	417		349	....	....
T53				220	092	.69	338/021	M32	9.3	2.7
T O C	N4715.2	0001	...	46	093	422	P008	M03		
	E00821.2	0008	...	4	186	430	4	348	....	....
T53				220	150	.70	338/021	M32	9.2	2.7
OMIDO	N4715.0	0000	...	78	153	422	P008	M03		
OMIDO	E00827.0	0008	...	4	182	430	4	348	....	....
T53				240	171	.72	344/022	M37	9.0	2.9
ARTAG	N4709.9	0001	...	78	174	433	P022	M04		
ARTAG	E00830.8	0009	...	6	176	455	3	348	....	....
T53				240	171	.72	344/022	M37	8.9	3.0
GERSA	N4702.4	0001	...	129	174	433	P022	M04		
GERSA	E00831.9	0010	...	8	168	455	3	348	....	....

```
AWY                                FL   IMT   MN    WIND  OAT  EFOB  PBRN
POSITION    LAT      EET ETO MORA  ITT  TAS    COMP  TDV
IDENT       LONG    TTLT ATO DIS  RDIS   GS     SHR  TRP  AFOB  ABRN
FREQ
-----------------------------------------------------------------------
DCT                            230   171  .71 350/020  M35   8.6   3.3
SOSON       N4636.4 0004 ... 120   174  426    P020  M04
SOSON      E00835.7 0014 ...  26   142  446       3  348  ....  ....

DCT                            230   208  .71 322/033  M34   8.5   3.4
DEGAD       N4626.2 0002 ... 129   211  427    P028  M03
DEGAD      E00837.1 0016 ...  10   132  455       5  348  ....  ....

DCT                            230   171  .71 313/051  M32   8.4   3.6
BASGO       N4616.4 0001 ... 106   174  430    P008  M01
BASGO      E00828.3 0017 ...  12   120  438       6  357  ....  ....

SWITZERLAND FIR/UIR
-LSAS       N4619.9 0000 ...
           E00827.8 0017 ...   3   117

MILAN FIR/UIR
-LIMM       N4614.1 0000 ...
           E00828.6 0017 ...   1   118

Z424                           230   156  .71 313/051  M32   8.2   3.7
AKASU       N4606.6 0002 ...  91   159  427    P037  M01
AKASU      E00829.7 0019 ...   8   110  464       6  357  ....  ....

Z424                           193   138  .66 334/019  M25   8.2   3.8
RIXUV       N4553.9 0001 ...  57   141  403    P019  M02
RIXUV      E00836.6 0020 ...  14    96  422       3  348  ....  ....

RIXUV3E                        190   148  .66 334/019  M25   8.1   3.9
MC685       N4545.9 0002 ...  37   151  403    P018  M02
MC685      E00845.8 0022 ...  10    86  421       3  348  ....  ....

RIXUV3E                        190   166  .66 334/019  M25   7.9   4.0
EVGIR       N4537.1 0001 ...  27   169  403    P019  M02
EVGIR      E00852.6 0023 ...  10    76  422       3  348  ....  ....

RIXUV3E                        190   166  .66 334/019  M25   7.8   4.1
MC768       N4530.2 0001 ...  25   169  403    P018  M02
MC768      E00854.5 0024 ...   7    69  421       3  348  ....  ....

RIXUV3E                        190   167  .65 316/040  M23   7.8   4.1
T O D       N4529.2 0000 ...  25   169  403    P033  P00
           E00854.8 0024 ...   1    68  436       7  357  ....  ....

RIXUV3E                        173   166  .63 322/030  M20   7.8   4.2
MC761       N4523.3 0001 ...  24   169         P026  P00
MC761      E00856.4 0025 ...   6    62  418           357  ....  ....

RIXUV3E                        159   166  .61 329/024  M17   7.8   4.2
MC756       N4518.4 0001 ...  24   169         P022  P00
MC756      E00857.7 0026 ...   5    57  405           357  ....  ....
```

```
AWY                                FL   IMT   MN    WIND  OAT  EFOB  PBRN
POSITION    LAT      EET ETO MORA  ITT  TAS    COMP  TDV
IDENT       LONG    TTLT ATO DIS  RDIS   GS     SHR  TRP  AFOB  ABRN
FREQ
-----------------------------------------------------------------------
RIXUV3E                         145   166  .59 341/018  M14   7.8   4.2
ESITE       N4513.5 0001 ...  23   169         P018  P00
ESITE      E00859.0 0027 ...   5    52  393          357  ....  ....

RIXUV3E                         131   166  .58 356/015  M11   7.7   4.2
MC746       N4508.6 0001 ...  31   169         P015  P00
MC746      E00900.3 0028 ...   5    47  382          357  ....  ....

RIXUV3E                         117   256  .56 009/013  M08   7.7   4.2
MC741       N4503.7 0001 ...  24   259         P012  P00
MC741      E00901.7 0029 ...   5    42  371          357  ....  ....

RIXUV3E                         101   346  .54 016/011  M05   7.7   4.3
MC435       N4502.5 0001 ...  24   349         P005  P00
MC435      E00853.3 0030 ...   6    36  355          357  ....  ....

RIXUV3E                         087   346  .44 019/008  M03   7.7   4.3
MC430       N4507.4 0001 ...  24   349         M007  M01
MC430      E00852.0 0031 ...   5    31  278          357  ....  ....

RIXUV3E                         073   346  .43 034/008  M01   7.7   4.3
MC425       N4512.3 0001 ...  24   349         M006  M01
MC425      E00850.7 0032 ...   5    26  272          357  ....  ....

RIXUV3E                         059   346  .42 056/010   01   7.6   4.3
MC420       N4517.3 0001 ...  24   349         M004  M02
MC420      E00849.3 0033 ...   5    21  268          357  ....  ....

RIXUV3E                         045   345  .41 071/013   04   7.6   4.3
INLER       N4522.2 0001 ...  32   348         M002  M02
INLER      E00848.0 0034 ...   5    16  264          357  ....  ....

RIXUV3E                                                        7.4   4.6
MALPENSA    N4537.8 0005 ...
LIMC       E00843.4 0039 ...  16                            ....  ....
```

WIND INFORMATION

CLIMB	T O C	OMIDO	ARTAG
350 319/057 -55	260 321/037 -40	260 321/037 -40	280 325/038 -45
310 315/059 -49	240 328/028 -36	240 328/028 -36	260 332/028 -41
200 354/015 -28	220 338/021 -32	220 338/021 -32	240 344/022 -37
150 050/008 -16	200 354/015 -28	200 354/015 -28	220 354/019 -33
100 004/003 -05	180 021/011 -23	180 021/011 -23	200 002/016 -28

GERSA	SOSON	DEGAD	BASGO
280 325/038 -45	270 328/032 -43	270 313/057 -41	270 313/073 -40
260 332/028 -41	250 337/025 -39	250 316/045 -37	250 313/063 -36
240 344/022 -37	230 350/020 -35	230 322/033 -34	230 313/051 -32
220 353/019 -33	210 358/017 -31	210 325/025 -29	210 320/038 -28
200 002/016 -28	190 006/015 -26	190 333/019 -25	190 321/025 -24

AKASU	RIXUV	MC685	EVGIR
270 313/073 -40	230 322/033 -34	230 322/033 -34	230 322/033 -34
250 313/063 -36	210 325/024 -29	210 325/024 -29	210 325/024 -30
230 313/051 -32	190 334/019 -25	190 334/019 -25	190 334/019 -25
210 320/038 -28	170 348/015 -20	170 348/015 -20	170 348/015 -20
190 321/025 -24	150 001/013 -16	150 001/013 -16	150 001/013 -16

MC768	T O D	DESCENT
230 322/033 -34	230 306/067 -30	350 311/073 -57
210 325/024 -30	210 312/055 -27	310 308/081 -49
190 334/019 -25	190 316/040 -23	200 314/047 -25
170 348/015 -20	170 324/029 -19	150 001/013 -16
150 001/013 -16	150 336/020 -15	100 010/013 -05

[ATC Flight Plan]

```
-----------------------------------------------------------------------
                          ICAO FLIGHT PLAN
                          ----------------

FF LSASZQZX LIMMZQZX
221456 CYULSBFP
(FPL-FIN1013-IS
-A333/H-SDE3GHIJ2J3J5M1RVWXY/LB2D1
-LSZH1530
-N0422F220 VEBIT4S VEBIT T53 OMIDO/N0433F240 T53 GERSA/N0426F230 DCT
 SOSON DCT DEGAD DCT BASGO Z424 AKASU/N0403F190 Z424 RIXUV RIXUV3E
-LIMC0029 LIPE
-PBN/A1B1C1D1O1S2 DOF/260422 REG/N339SB EET/LSAS0017 LIMM0018
 OPR/FIN PER/C RMK/TCAS)
```

[Additional Info]

D I S P A T C H B R I E F I N G I N F O AY1013 LSZH/LIMC

[Runway Analysis]

```
TAKEOFF AND LANDING REPORT FIN 1013 LSZH-LIMC 22APR26
TLR-1 SEQ-170418036 22APR26 1456Z
A/C N339SB  A330-300 TRENT 772  BEW/CG 127303/.....

/// TAKEOFF DATA ///

APT   PRWY  POAT PWIND  PQNH  PMRTW FLP MT V1 VR V2 PTOW MFPTW LIMIT
LSZH  16    15.0 057M13 1020  2330  1   51 29 29 37 1737 1910  AFM

RMKS FLEX - SEL TEMP 51
     BLEEDS ON

---- ---- ------ ----- ------- --- --- --- --- --- -----------------
RWY  OAT  WIND   QNH   MRTW    FLP V1  VR  V2  PWR CONFIG/CONDITION

--------------------------- ACARS RUNWAYS --------------------------
RWY          ACARS  LENGTH PMTOW NOTES
10                   8202  2237
14                  10827  2330 ILS 111.75
16                  12139  2330 ILS 110.50
28                   8202  2013 ILS 109.75
32                  10827  2330
34                  12139  2330 ILS 110.75

-------------------- DRY RWY - PTOW - CALM WIND --------------------
RWY          MTOW MT CONFIG                   FLP  V1  VR  V2  LIMIT
10           2141 51 FLEX - BLEEDS ON           1 129 129 137  FLD
14           2330 51 FLEX - BLEEDS ON           1 129 129 137  AFM
16           2330 51 FLEX - BLEEDS ON           1 129 129 137  AFM
28           2211 51 FLEX - BLEEDS ON           1 129 129 137  FLD
32           2330 51 FLEX - BLEEDS ON           1 129 129 137  AFM
34           2330 51 FLEX - BLEEDS ON           1 129 129 137  AFM

--------------- DRY RWY - PTOW PLUS 4000 - CALM WIND ---------------
RWY          MTOW MT CONFIG                   FLP  V1  VR  V2  LIMIT
10           2141 51 FLEX - BLEEDS ON           1 131 131 138  FLD
14           2330 51 FLEX - BLEEDS ON           1 131 131 138  AFM
16           2330 51 FLEX - BLEEDS ON           1 131 131 138  AFM
28           2211 51 FLEX - BLEEDS ON           1 131 131 138  FLD
32           2330 51 FLEX - BLEEDS ON           1 131 131 138  AFM
34           2330 51 FLEX - BLEEDS ON           1 131 131 138  AFM

-------------------- WET RWY - PTOW - CALM WIND --------------------
RWY          MTOW MT CONFIG                   FLP  V1  VR  V2  LIMIT
10           2096 51 FLEX - BLEEDS ON           1 128 129 137  FLD
14           2330 51 FLEX - BLEEDS ON           1 129 129 137  AFM
16           2330 51 FLEX - BLEEDS ON           1 129 129 137  AFM
28           2164 51 FLEX - BLEEDS ON           1 129 129 137  FLD
32           2330 51 FLEX - BLEEDS ON           1 129 129 137  AFM
34           2330 51 FLEX - BLEEDS ON           1 129 129 137  AFM
```

```
--------------- WET RWY - PTOW PLUS 4000 - CALM WIND ---------------
RWY          MTOW MT CONFIG                    FLP  V1  VR  V2  LIMIT
10           2096 51 FLEX - BLEEDS ON            1 128 131 138  FLD
14           2330 51 FLEX - BLEEDS ON            1 131 131 138  AFM
16           2330 51 FLEX - BLEEDS ON            1 131 131 138  AFM
28           2164 51 FLEX - BLEEDS ON            1 130 131 138  FLD
32           2330 51 FLEX - BLEEDS ON            1 131 131 138  AFM
34           2330 51 FLEX - BLEEDS ON            1 131 131 138  AFM

/// LANDING DATA ///

APT   PRWY  POAT PWIND  PQNH  PMRLW FLP  PLDW  LIMIT
LIMC  35R   17.0 147M03 1019  1870  FULL 1696  AFM

RMKS NONE

-------- ---- ------ ----- ------- --- ----- --- --------------------
RWY      OAT  WIND   QNH   MRLW    FLP VREF  PWR CONFIG/CONDITION

---------------------------- ACARS RUNWAYS --------------------------
RWY          ACARS  LENGTH PMRLW NOTES
17L                  9767  1870 ILS 110.75
17R                 12861  1870
35L                 11532  1870 ILS 109.10
35R                 12858  1870 ILS 109.90

------------- FLAPS FULL - PACKS ON - NO ENROUTE ICING -------------
DRY RWY / WET RWY
            17L            17R            35L            35R
  OAT       9767 FT        12861 FT       11532 FT       12858 FT
   12       1870A/1870A    1870A/1870A    1870A/1870A    1870A/1870A
 / 17       1870A/1870A    1870A/1870A    1870A/1870A    1870A/1870A
   22       1870A/1870A    1870A/1870A    1870A/1870A    1870A/1870A
HW/10KT         0/    0        0/    0        0/    0        0/    0
TW/10KT         0/    0        0/    0        0/    0        0/    0

-------- LANDING DISTANCE - FLAPS FULL - MAX MANUAL BRAKING --------
                  ACTUAL            FACTORED
  LDW     VREF     DRY      WET      DRY      WET
  1660    128     3421     4317     4528     5559
  1680    129     3448     4352     4571     5610
/ 1700    130     3476     4387     4614     5661
  1720    131     3510     4430     4664     5722
  1740    132     3545     4474     4715     5783
HW/KT              -21      -26      -24      -31
TW/KT               62       79       93      111

END TAKEOFF AND LANDING REPORT FIN 1013 LSZH-LIMC 22APR26
```

[Airport WX List]

```
-----------------------------------------------------------------------
LSZH --> LIMC    AY  1013 / 22APR2026
LIDO/WEATHER SERVICE       DATE : 22Apr2026   TIME : 14:56 UTC

AIRMETs:
  No Wx data available

SIGMETs:
  No Wx data available

Tropical Cyclone SIGMETs:
  No Wx data available

Volcanic Ash SIGMETs:
  No Wx data available

Departure:
LSZH/ZRH  ZURICH
  SA  221450  06013KT 030V090 CAVOK 15/M02 Q1020
  FT  221425  2215/2321 06012KT CAVOK TX16/2215Z TN02/2304Z
              TX20/2315Z
              TEMPO 2215/2217 06017G29KT
              BECMG 2218/2220 05008KT
              BECMG 2221/2223 34004KT
              BECMG 2306/2308 05005KT
              BECMG 2308/2311 05010KT
              BECMG 2317/2319 05006KT

Destination:
LIMC/MXP  MALPENSA
  SA  221420  15003KT 110V210 9999 SCT050 17/07 Q1019 NOSIG
  FT  221100  2212/2318 VRB05KT 9999 BKN040

Destination Alternates:
LIPE/BLQ  BORGO PANIGALE
  SA  221420  09008KT 060V130 9999 FEW050 18/06 Q1019
  FT  221100  2212/2312 08010KT 9999 SCT040
              BECMG 2216/2218 VRB05KT


  AIRPORTLIST ENDED
```

[NOTAM]

LIDO-NOTAM-BULLETIN INCLUDES NOTAM, COMP NOTAM AND AIP-REGULATION
VALID: 2604221530 - 2604222016 STD(EOBT)+TRIP+ALTN+3HRS
FIN 1013 /22APR OFP-NR: 1
ROUTE: LSZH - LIMC ALTN: LIPE
N0422F220 VEBIT4S VEBIT T53 OMIDO/N0433F240 T53 GERSA/N0426F230 DCT
SOSON DCT DEGAD DCT BASGO Z424 AKASU/N0403F190 Z424 RIXUV RIXUV3E

==========
DEPARTURE AIRPORT - DETAILED INFO
==========

LSZH/ZRH ZURICH

++++++++++++++++++++++++++++ AIRPORT ++++++++++++++++++++++++++++++

A0300/26
ACFT STAND A44 AND B31 RESTRICTED TO CODE C ACFT.
REF AIP SUP 006/25, PHASE I.
A0299/26
TWY N EAST OF ACFT STAND B35 RESTRICTED TO CODE C ACFT.
REF AIP SUP 006/25, PHASE I.
A0275/26
INT **TWY E7** AND **TWY E** CL LGT MIS.
A0260/26
ACFT STANDS B33 AND B37 **CLSD** DUE TO **WIP**.
A0287/26
TWY E4 CLSD DUE TO **WIP**. AREA MARKED AND LGTD.
A0289/26
TWY E CLSD BTN **TWY F** AND LINK 6 DUE TO **WIP**. AREA MARKED AND LGTD.
A0288/26
TWY LINK 7 **CLSD** DUE TO **WIP**. AREA MARKED AND LGTD.
A0282/26
TWY INNER BTN **TWY J** AND **TWY A** NO CL LGT PROVIDED. TAX WITH CTN.
REF AIP SUP 001/2026 PHASE I.
A0280/26
ACFT STAND H11, H12, H13 AND H14 **CLSD** DUE TO **WIP**.
REF AIP SUP 001/2026 PHASE I.
A0281/26
TWY INNER BTN **TWY J** AND **TWY A** NO SINGLE ENG OPS **AVBL** FOR
MULTIENGINE ACFT.
REF AIP SUP 001/2026 PHASE I.
A0279/26
TWY INNER BTN **TWY J** AND **TWY A** RESTRICTED TO CODE C ACFT.
USE MNM POWER ONLY.
REF AIP SUP 001/2026 PHASE I.
A0278/26
TWY K BTN **TWY A** AND **TWY** INNER **CLSD** DUE TO **WIP**.
REF AIP SUP 001/2026 PHASE I.
A0269/26
TWY E BTN **TWY E9** AND ABM PRKG PSN D15 NO CL LGT PROVIDED.
TAX ON TEMPO MARKED **TWY CL**.
FOR ACFT CODE E SPECIAL RQMNTS WITH FLW ME FOR TAX.
A0258/26
TWY A EAST OF **TWY K** CL LGT PARTIALLY MIS.
A0256/26
CRANE MARKED, LGTD, 472653N0083155E, 37.6M / 123.4FT AGL,
475.3M / 1559.4FT AMSL.

A0215/26
TWY P CL LGT MIS.
A0216/26
DIP F BTN **TWY E** AND LINK 6 CL LGT AND APRON STOP BARS MIS.
A0213/26
SUN-THU 2100-0400
TWY F1 CLSD DUE TO **WIP** AFT LAST SKED FLT.
A0212/26
SUN-THU 1900-0400
TWY F2 AND F3 **CLSD** DUE TO **WIP** IN CASE OF REMOTE DE-ICING PAD F IS NOT USED FOR ACFT DE-ICING. AREA MARKED AND LGTD.
A0214/26
SUN-THU 1900-0400
TWY P CLSD DUE TO **WIP**.
A0121/26
CRANE MARKED, LGTD, 472652N0083423E, 29.3M / 96.1FT AGL, 484.2M / 1588.5FT AMSL.
A0105/26
TWY E BTN **TWY E7** AND **TWY** LINK-2 **CLSD** DUE TO **WIP**.
REF AIP SUP 002/2025 PHASE III.
A0104/26
TWY E SOUTH OF **TWY E7** RESTRICTED TO CODE E ONLY.
MAX WING SPAN 65M. REF AIP SUP 002/2025 PHASE III.
A0106/26
TWY N BTN **TWY E7** AND **TWY F CLSD** DUE TO **WIP**.
REF AIP SUP 002/2025 PHASE III.
A0103/26
TWY LINK-3 **CLSD**. TAX ON TEMPO MARKED CL LINK-3.
NO CL LGT PROVIDED. TAX WITH CTN. REF AIP SUP 002/2025 PHASE III.
A0075/26
TWY N EAST OF ACFT STAND B35 RESTRICTED TO CODE C ACFT.
REF AIP SUP 006/25, PHASE I.
A0074/26
ACFT STAND A44 AND B31 RESTRICTED TO CODE C ACFT.
REF AIP SUP 006/25, PHASE I.

++++++++++++++++++++++++++++++ RUNWAY ++++++++++++++++++++++++++++++

A0206/26
SUN-THU 2100-2359, MON-FRI 0000-0400
RWY 16/34 CLSD AFT LAST SKED FLT. ACTUAL CLOSURE BCST ON ATIS.
A0207/26
SUN-THU 2100-2359, MON-FRI 0000-0400
RWY 10/28 CLSD AFT LAST SKED FLT. ACTUAL CLOSURE BCST ON ATIS.

++++++++++++++++++++++++++++++ SID ++++++++++++++++++++++++++++++

A0041/26
SID **RWY 16** - RNAV 5:
VEBIT 4S PDG CHANGED TO 5.3 PCT TO 2100FT.
REF AIP LSZH 2.22, 1.1.2.

++++++++++++++++++++++ APPROACH PROCEDURES ++++++++++++++++++++++

A0267/26
2130-0300
RWY 28 ILS IZW 109.750 **U/S** DUE TO RPLC.
A0169/26
TRIGGER NOTAM - PERM AIRAC AMDT 004/2026:
RNAV 1 TRANSITION TO FINAL APCH **RWY 28** AND IAC RNP **RWY 28** REVISED.

A0165/26
REF AIP SUP 003/26:
RWY 28 ILS GP 333.050 **U/S** DUE TO RPLC.
IAC **ILS RWY 28** (LSZH **AD** 2.24.10.3-3) CANCELLED.

==========
DESTINATION AIRPORT - DETAILED INFO
==========

LIMC/MXP MALPENSA

++++++++++++++++++++++++++++ AIRPORT ++++++++++++++++++++++++++++++

A1911/26
ACFT STAND 714 **CLSD** DUE TO **WIP**
RMK: ICAO SIGNALS PROVIDED
REF AIP **AD** 2 LIMC 2-11
A1866/26
RUNWAY GUARD LIGTHS (RGL) **CAT** II/III LOCATED ON **TWY** 'CA'
UNSERVICABLE
REF AIP **AD** 2 LIMC 2-1
A1865/26
ACFT STANDS 602 **CLSD** DUE TO **WIP**
RMK: ICAO SIGNALS PROVIDED
REF AIP **AD** 2 LIMC 2-9
A1848/26
SUP S9/26 'AD MILANO/MALPENSA (LIMC): EXTRAORDINARY MAINTENANCE
WORKS ON **RWY** 17R/35L' IN FORCE FM 16 MAR TO 10 JUN 2026.
CURRENT STATUS OF WORKING PHASES:
- PHASE 1: COMPLETED
- PHASE 2 ACT WITH FLW ADDN REGULATIONS:
1.RWY 17R/35L **CLSD**, DLA COULD BE EXPECTED FOR ALL TFC
2.NOISE ABATEMENT SCENARIOS.
NIGHT RESTRICTIONS WILL BE IN FORCE HR 2230-0400
WITHOUT ANY TIME TOLERANCE. DEP RWY17L, ARR RWY35R.
IN OTHER HR TKOF WILL BE AUTH ONLY FM RWY35R, TKOF FM RWY17L
WILL NOT BE AUTH FOR PERFORMANCE AND PAYLOAD REASONS.
3. FOLLOWING **TWY CLOSED**:
- APN **TWY** 'J'
- **TWY** 'GW'
- **TWY** 'GE' BTN **RWY 17R/35L** AND INTERMEDIATE HLDG PSN (IHP) 'GE1'
(EXCLUDED)
ICAO SGL PROVIDED.
TWY MAY BE **AVBL** IN 10 MINUTES ON ATS REQUEST ONLY.
4.TWY 'K' BTN APN **TWY** 'N' AND APN **TWY** 'T' (BOTH INCLUDED)
DOWNGRADED AND **AVBL** ONLY FOR ACFT WITH WINGSPAN UP TO 68.5M
- PHASE 3: NOT ACT YET
A1827/26
LOCAL FLIGHT RESTRICTIONS.
GENERAL AVIATION AND AIR TAXI FLT ACCEPTED ONLY FROM
0600-0800 AND 1400-1600, SUBJ PRIOR AUTHORIZATION
BY **AD** OPERATOR AND ACFT STANDS AVAILABILITY.
RMK:
- OUTSIDE ABOVE HOURS ONLY BASED FLT AUTHORIZED
BY **AD** OPERATOR, BUSTER AIR TRAFFIC (BAT), EMERGENCY
AND MEDICAL FLT ALLOWED
- HELICOPTER TFC NOT ALLOWED
REF AIP **AD** 2 LIMC 1-18

A1819/26
MARSHALLING ASSISTANCE MANDATORY FOR ALL MOV TOWARDS
ACFT STANDS 705, 713, 715 AND 718 DUE TO UNAVAILABILITY OF VISUAL
DOCKING/PARKING GUIDANCE SYSTEM
REF AIP **AD** 2 LIMC 1-20 AND 2-11

A1774/26
MARSHALLING ASSISTANCE MANDATORY FOR ALL MOV
TOWARDS ACFT STAND 708 DUE TO UNAVAILABILITY OF VISUAL
DOCKING/PARKING GUIDANCE SYSTEM
AD 2 LIMC 2 - 11

A1227/26
RVR DATA **RWY 35L NOT AVBL** DUE TO **WIP**
REF AIP GEN 3.5

A1237/26
VERTICAL SIGNALLING LIGHT INTERMEDIATE HLDG POSITION (IHP) 'Y2' ON
APN **TAXIWAY** 'Y' UNSERVICEABLE
REF AIP AD2 LIMC 2-11

A0737/26
OBST LGT UNSERVICEABLE
PSN COORD (WGS-84) 453852.8N 0084324.9E
ELEV AMSL 257.1M/843.5FT ELEV AGL 25.8M/84.6FT
REF AIP **AD** 2 LIMC 3-3

A0590/26
ACFT STAND 757 **CLOSED** DUE TO **WIP**.
RMK: ICAO SIGNALS PROVIDED.
REF AIP **AD** 2 LIMC 2-11

A0347/26
ACFT STAND 714 **CLSD** DUE TO **WIP**.
RMK: ICAO SIGNALS PROVIDED.
REF AIP **AD** 2 LIMC 2-11

++++++++++++++++++++++ APPROACH PROCEDURES ++++++++++++++++++++++

A1235/26
INSTRUMENT LANDING SYSTEM (ILS) **RWY 35L** UNSERVICEABLE.
REF AIP **AD** 2 LIMC 1-16 AND AIRAC SUP S09/26

A6815/25
INSTRUMENT APCH PROCEDURE CHARTS:
- **ILS** Z RWY35L
- RNP RWY35L
- **ILS** Z RWY35R
- RNP RWY35R
- **ILS** OR **LOC** Z RWY17L
- **ILS** OR **LOC** Y RWY17L
- **VOR** RWY17L
- RNP Z RWY17L
- RNP Y RWY17L
- RNP Z RWY17R
- RNP Y RWY17R

ALL VALUES OF MOCA (MINIMUM OBSTACLE CLEARANCE ALTITUDE) IN
PROFILE VIEW SHALL BE RAISED TO THE LOWER ALTITUDE OF THE RELATED
SEGMENT OF THE PROCEDURE.
REF AIP **AD** 2 LIMC 5-3, 5-9, 5-15, 5-21, 5-27, 5-31, 5-33, 5-37,
5-41, 5-45 AND 5-49

==========
DESTINATION ALTERNATE AIRPORT(S)
==========

LIPE/BLQ BORGO PANIGALE

++++++++++++++++++++++++++++ AIRPORT ++++++++++++++++++++++++++++++

A1919/26
NEW OBSTACLE ERECTED CRANE PENETRATING
TAKE-OFF FLIGHT PATH AREA (TOFPA) **RWY 12**
PSN COORD (WGS-84): 443112.8N 0112006.3E
MAX ELEV AGL 46.8M/153.6FT
MAX ELEV AMSL 82.6M/271.0FT
ROTATING JIB 41.1/134.9FT
RMK: ICAO SIGNAL PROVIDED
REF AIP **AD** 2 LIPE 3-3 (AOC TYPE B NR PE 4/4)
A1896/26
TWY 'T' BTN **TWY** 'TN' AND 'TQ **AVBL** ONLY FOR ACFT
UP TO ICAO CODE 'C' DUE TO **WIP**.
TAX WITH **CAUTION**. FOLLOW-ME CAR **AVBL** ON REQUEST.
REF AIP AD2 LIPE 2-7
A1880/26
TWY 'T' CENTERLINE LIGHTS **AVBL** EVERY SECOND WORKING.
REF AIP **AD** 2 LIPE 2-1
A1861/26
NEW OBSTACLE ERECTED CRANES
PSN COORD (WGS-84): 443100.8N 0112132.8E
MAX ELEV AGL 60.0M/196.8FT
MAX ELEV AMSL 99.0M/324.8FT
ROTATING JIB 70.0M/229.6FT
RMK: ICAO SIGNAL NOT PROVIDED
PSN COORD (WGS-84): 443113.0N 0112138.4E
MAX ELEV AGL 57.2M/187.7FT
MAX ELEV AMSL 92.2M/302.5FT
ROTATING JIB 70.0/229.6FT
RMK: ICAO SIGNAL PROVIDED
PSN COORD (WGS-84): 443110.4N 0112136.8E
MAX ELEV AGL 35.6M/116.8FT
MAX ELEV AMSL 70.6M/231.6FT
ROTATING JIB 70.0M/229.6FT
RMK: ICAO SIGNAL NOT PROVIDED
PSN COORD (WGS-84): 443109.9N 0112137.9E
MAX ELEV AGL 45.6M/149.6FT
MAX ELEV AMSL 81.6M/267.7FT
ROTATING JIB 70.0/229.6FT
RMK: ICAO SIGNAL PROVIDED
PSN COORD (WGS-84): 443117.7N 0112139.0E
MAX ELEV AGL 33.0M/108.3FT
MAX ELEV AMSL 68.0M/324.8FT
ROTATING JIB 70.0/223.1FT
RMK: ICAO SIGNAL PROVIDED
REF AIP **AD** 2 LIPE 3-3 (AOC TYPE B NR PE 4/4)
A1828/26
ALL SIGNS INSIDE THE MOVEMENT AREA FM AIRCRAFT STAND TAXILANE 'U'
TO RWY12 END ARE NOT LIGHTED, INCLUDING THE MANDATORY INSTRUCTION
SIGNS 'NO ENTRY' **TWY** 'F' AND 'G', **RUNWAY** HOLDING POSITION (RHP) J,
RHP K AND INTERMEDIATE HOLDING POSITION (IHP) T3, DUE TO TECH
FAILURE.
REF AIP **AD** 2 LIPE 2-1

A1781/26
NEW OBSTACLE ERECTED CRANE PENETRATING TAKE-OFF FLIGHT PATH AREA (TOFPA) **RWY 12** AND INNER HORIZONTAL SURFACE
PSN COORD (WGS-84): 443049.0N 0112017.2E
MAX ELEV AGL 53.2M/174.5FT
MAX ELEV AMSL 92.2M/302.5FT
ROTATING JIB 60.0/196.9 FT
RMK: ICAO SIGNAL PROVIDED
REF AIP **AD** 2 LIPE 3-3

A1715/26
ACFT OPS FOR ICAO CODE 'F' NOT ALLOWED DUE TO **WIP**.
REF AIP **AD** 2 LIPE 1-18

A1714/26
ACFT UP TO ICAO CODE 'E' MAY TAX TO RHP 'K' DUE TO PRESENCE OF NEW **TWY** CENTRELINE MARKING BTN **TWY** 'G' AND **TWY** 'T'.
RMK: MARKING USABLE SS-SR ONLY WITH FOLLOW-ME CAR ASSISTANCE AND NOT USABLE DURING LVP
REF AIP **AD** 2 LIPE 2-1 AND 2-7

A1713/26
TWY 'T' BTN **TWY** 'TN' AND 'TQ' **AVBL** ONLY FOR ACFT UP TO ICAO CODE 'D' DUE TO **WIP**.
TAXI WITH **CAUTION**.
FOLLOW-ME CAR **AVBL** ON REQUEST
REF AIP **AD** 2 LIPE 2-1

A1712/26
FOLLOWING LIMITATIONS APPLIED ON APRON:
- AIRCRAFT STAND TAXILANE 'Z' BTN **TWY** 'TP' AND **TWY** 'TU' (BOTH INCLUDED) ,
- AIRCRAFT STAND 104 **CLSD** DUE TO **WIP**.
- START POINT 'P1','P2', AND 'U1' **NOT AVAILABLE**.
- PUSH BACK FM ACFT STAND 216 TO BE PERFORMED ONLY ON START POINT 'N1'.
- PUSH BACK FM ACFT STAND 214 AND 215 TO BE PERFORMED ONLY ON START POINT 'N1' OR 'N2'.
ICAO SIGNAL PROVIDED.
REF AIP **AD** 2 LIPE 2-7

A1711/26
ACFT STANDS 217, 218, 219, 2201 AND 2202 **CLSD** DUE TO **WIP**
REF AIP **AD** 2 LIPE 2-7

A1697/26
ACFT STAND 103 **AVBL** ONLY FOR ACFT UP TO ICAO CODE 'C' DUE TO **WIP**
REF AIP **AD** 2 LIPE 2-1 AND 2-7

A1696/26
AIRCRAFT STAND TAXILANE 'U' **AVAILABLE** ONLY FOR ACFT UP TO ICAO CODE C DUE TO **WIP**.
REF AIP **AD** 2 LIPE 2-7

A1539/26
AERODROME BEACON UNSERVICEABLE
REF AIP AD2 LIPE 1-12

A1485/26
NOISE ABATEMENT PROCEDURES.
USE OF **RWY** TO BE APPLIED DURING 2200-0500 (2100-0400) ARE THE FLW:
-TAKE-OFF OPERATIONS WILL BE COMPULSORILY PERFORMED FROM RWY30, EXCEPT FOR OTHER PILOTS REQUEST DUE TO METEOROLOGICAL OR SAFETY REASONS.
- LANDING OPERATIONS SHALL BE COMPULSORILY PERFORMED USING RWY12, EXCEPT FOR OTHER PILOTS REQUEST DUE TO METEOROLOGICAL OR SAFETY REASONS.
REF AIP **AD** 2 LIPE 1-26

A1402/26
MOBILE CRANES ERECTED PENETRATING INNER HORIZONTAL SURFACE:
PSN COORD (WGS84) 443042.5N 0112017.1E
ELEV AGL 65.2M/213.9FT
ELEV AMSL 103.8M/340.6FT
ROTATING JIB RADIUS 36.3M/119.1FT
PSN COORD (WGS84) 443041.1N 0112017.3E
ELEV AGL 58.1M/190.6FT
ELEV AMSL 96.7M/317.3FT
ROTATING JIB RADIUS 31.3M/102.7FT
RMK: ICAO SGL PROVIDED
REF AIP **AD** 2 LIPE 3-3 (AOC TYPE B NR PE 4/4

A1401/26
NEW ANTENNA ERECTED PENETRATING INNER HORIZONTAL SFC:
PSN COORD (WGS84) 443000.1N 0111924.2E
ELEV AGL 38.5M/126.3FT, ELEV AMSL 88.5M/290.4FT
RMK: ICAO SGL PROVIDED
REF AIP AD2 LIPE 3-3

A1400/26
NEW OBST ERECTED CRANES PENETRATING INNER HORIZONTAL SURFACE:
- PSN COORD (WGS84) 443026.2N 0111831.1E
ELEV AGL 61.0M/200.1FT
ELEV AMSL 103.1M/338.3FT
ROTATING JIB RADIUS 40.0M/131.2FT
- PSN COORD (WGS84) 443026.2N 0111833.6E
ELEV AGL 48.2M/158.1FT
ELEV AMSL 90.3M/296.3FT
ROTATING JIB RADIUS 40.0M/131.2FT
- PSN COORD (WGS84) 443026.2N 0111828.5E
ELEV AGL 42.1M/138.1FT
ELEV AMSL 90.3M/296.3FT
ROTATING JIB RADIUS 45.0M/147.6FT
RMK: ICAO SGL PROVIDED
REF AIP **AD** 2 LIPE 3-3

A1360/26
STOP BAR B2 USABLE ONLY AS NO ENTRY BAR
REF AIP **AD** 2 LIPE 1-9

A1102/26
OBSTACLE LGT UNSERVICEABLE ON:
-BUILDING PSN (WGS-84:) 443105.8N 0112014.8E
ELEV AGL 43.0M/141.1FT ELEV AMSL 78.7M/258.2FT
-ANTENNA TOWER - PSN (WGS-84) 442940.7N 0111719.4E
ELEV AGL 39.0M/128.0FT ELEV AMSL 85.0M/278.9FT
-ANTENNA OVER BUILDING - PSN (WGS-84) 443029.4N 0112155.3E
ELEV AGL 84.0M/275.6FT ELEV AMSL 134.3M/440.6FT
-POLE OVER BUILDING - PSN (WGS-84) 443029.2N 0112156.5E
ELEV AGL 90.3M/296.3FT FT ELEV AMSL 134.3M/440.6FT
-ANTENNA OVER BUILDING - PSN (WGS-84) 443029.6N 0112148.9E
ELEV AGL 85.7M/281.2FT ELEV AMSL 129.8M/425.9FT
-BUILDING - PSN (WGS-84) 443229.4N 0111608.5E
ELEV AGL 7.8M/25.6FT ELEV AMSL 46.8M/153.5FT
-BUILDING - PSN (WGS-84) 443229.1N 0111608.8E
ELEV AGL 11.8M/38.7FT ELEV AMSL 43.8M/143.7FT
-BUILDING - PSN (WGS-84) 443228.7N 0111608.6E
ELEV AGL 13.6M/44.6FT ELEV AMSL 45.6M/149.6FT
-POLE OVER BUILDING -PSN (WGS-84) 443030.1N 0112149.3E
ELEV AGL 84.8M/278.2FT ELEV AMSL 128.8M/422.6FT
REF AIP **AD** 2 LIPE 3-3

A0845/26

NEW OBST MOBILE CRANE ERECTED PENETRATING
INNER HORIZONTAL SURFACE (IHS):
PSN COORD (WGS-84) 443138.4N 0111747.3E
ELEV AGL 44.7M/146.6FT
ELEV AMSL 82.7M/271.3FT
ROTATING JIB 56.5M/185.4FT
RMK: ICAO SGL PROVIDED
REF AIP **AD** 2 LIPE 3-3

A0614/26

BELOW, C) ARRIVING FLIGHTS MUST CALL HANDLER FREQUENCY AT LEAST 20 MINUTES, BEFORE ETA FOR COMPULSORY GROUND HANDLING SERVICE, PART 1 OF 10, A0614/26 NOTAMR A6642/25, Q) LIMM/QFAXX/IV/NBO/A /000/999/4432N01118E005, A) LIPE PART 2 OF 10 B) 2602091804 C) 2605052200 EST
- PROVISIONS FOR GENERAL AVIATION AIRCRAFT.
1) GENERAL
APRON 4 IS IDENTIFIED AS PARKING AND OPERATIONS AREA FOR GENERAL AVIATION FLIGHTS AND, ACCORDING TO LOCAL PROCEDURES, IS CLASSIFIED AS 'APRON SUBJECT TO SPECIAL REGULATION'.
A) A DEDICATED 'APRON COORDINATION' SERVICE ENSURES DURING DUTY TIME HR 0500-2100 (0400-2000), THE FOLLOWING SERVICES TO GENERAL AVIATION FLIGHTS OPERATING ON APRON 4:
-PLANNING AND ASSIGNMENT OF AIRCRAFT STANDS/PARKING AREAS
-FOLLOW-ME CAR AND MARSHALLING SERVICES
-REFUELLING (JET A1) BY FIXED FACILITY ON APN 4 HR 0500-2100 (0400-2000)
B) GENERAL AVIATION OPERATIONS IN BOLOGNA AERODROME ARE SUBJECT TO PPR, TO BE COMPULSORILY REQUESTED, BEFORE DEPARTURE OF ANY FLIGHT WITH DESTINATION BOLOGNA AERODROME, TO ONE OF THE HANDLING AGENTS REPORTED BELOW, ACCORDING TO REFERENCES PROVIDED IN POINT D) BELOW
C) ARRIVING FLIGHTS MUST CALL HANDLER FREQUENCY AT LEAST 20 MINUTES BEFORE ETA FOR COMPULSORY GROUND HANDLING SERVICE
PART 1 OF 10

- PROVISIONS FOR GENERAL AVIATION AIRCRAFT.
1)
D) HANDLING SPECIFIC SERVICES FOR GENERAL AVIATION FLIGHTS ARE PROVIDED BY THE FOLLOWING HANDLER:
- TAG: DAILY SERVICE MON-SUN HR 0500-2100 (0400-2000) OR H24 BY SPECIFIC AGREEMENT, TEL +39 051 6418901 / +39 051 6418902, FAX +39 051 6418909, E-MAIL: OPERATIONS(A)TAGBOLOGNA.COM, FREQ 131.700MHZ
E) ANY REQUEST CONCERNING EXTENSION OF ASSIGNED **AD** CLEARANCE MUST BE FORWARDED IN DUE TIMES TO HANDLING AGENT. IN CASE OF APRON STANDS UNAVAILABILITY, THE OPERATOR MUST RESPECT THE CLEARANCE PREVIOUSLY ASSIGNED
2) OPERATIONAL PROCEDURES
A) APRON 4 AND AIRCRAFT STAND TAXILANE V ARE NOT VISIBLE FROM CONTROL TOWER
PART 2 OF 10

B. FOLLOW-ME CAR AND MARSHALLING ASSISTANCE COMPULSORY FOR ALL AIRCRAFT MOVEMENTS ON APRON 4
C. TAXIING OPERATIONS ON APRON 4 MUST BE PERFORMED AT MINIMUM ENGINE POWER
D. USE OF AIRCRAFT STAND TAXILANE V AND USE OF APRON 4 ALLOWED ONLY FOR AIRCRAFT NOT EXCEEDING ICAO CODE C AND FOR WHEELED HELICOPTERS WITH OVERALL WIDTH NOT EXCEEDING 12.75 M. ACCORDING TO LOCAL PROCEDURES, OPERATIONS PERFORMED ON AIRCRAFT STAND TAXILANE V AND ON APRON 4 BY ICAO CODE C AIRCRAFT AND BY HELICOPTERS WITH 'OVERALL WIDTH' EXCEEDING 12.75M ARE ALLOWED ONLY AFTER APRON COORDINATOR HAS VERIFIED SAFETY CONDITIONS AND HAS CONFIRMED TO BE ABLE TO COMPLY WITH ADDITIONAL SAFETY PRESCRIPTIONS COMPULSORY FOR OPERATIONS OF SUCH AIRCRAFT
PART 3 OF 10

E. PRIORITY IN USE OF **TWY TV** WILL BE GIVEN TO ARRIVING AIRCRAFT F. TAXIING ON AIRCRAFT STAND TAXILANE V IS ALLOWED ONLY CLOCKWISE G. AIRCRAFT TOWING/PUSH-BACK ON APRON 4 ARE ALLOWED ONLY IN ENGINES OFF CONDITIONS
3. USE OF START POINT V1 ON APRON 4

START POINT V1 ON APRON 4 IS USED AS:
- HOLDING POSITION FOR DEPARTING AIRCRAFT
- MANDATORY HOLDING POSITION FOR ARRIVING AIRCRAFT
4. USE OF START POINTS V3 AND V4 ON APRON 4
START POINTS V3 AND V4 ON APRON 4 CAN BE USED FOR THE FOLLOWING OPERATIONS:
A. AIRCRAFT SHORT STAY TURN-AROUND
B. PASSENGERS EMBARKATION/DISEMBARKATION ACCORDING TO LOCAL PROCEDURES (SEE PARAGRAPH 10)
C. TAXI-IN/TAXI-OUT WITH FOLLOW-ME CAR GUIDANCE
D. SHORT STAY WITH ENGINE OFF (AEROPLANES)
E. SHORT STAY WITH ENGINE ON (HELICOPTERS).
F. START-UP WITH MARSHALLER ASSISTANCE
PART 4 OF 10

5) OPERATIONS ALLOWED ON APRON 4 FOR ARRIVING AIRCRAFT
ACCORDING TO PROCEDURES IN FORCE, ARRIVING HELICOPTERS BOUND TO APRON 4, WILL LAND ON THE **RWY**. ARRIVING AIRCRAFT PROCEEDING TO APRON 4 ARE ALLOWED TO PERFORM FOLLOWING OPERATIONS, WITH COMPULSORY FOLLOW-ME CAR AND MARSHALLING ASSISTANCE BEYOND IHP V1:
A) TAXIING, UPON TWR INSTRUCTION, FROM **TWY T** TO IHP V1 WHERE AIRCRAFT MUST STOP AND WAIT FOR FOLLOW-ME CAR BEFORE CONTINUING TAXIING OPERATIONS
B) TAXIING, WITH COMPULSORY FOLLOW-ME CAR GUIDANCE, FROM IHP V1 TO ASSIGNED AIRCRAFT STAND/START POINT, OR TO REFUELLING POSITION ON APRON 4 EAST SIDE
PART 5 OF 10

RMK:
-DURING LVP CONDITIONS, WHEN RVR MEASURED AT LEAST IN ONE OF **AVAILABLE** TRANSMISSOMETERS IS BELOW 400 M, TAXIING OPERATIONS ON **TWY T** OF ARRIVING AIRCRAFT PROCEEDING TO APRON 4, WILL BE ASSISTED BY APT OPERATOR FOLLOW-ME CAR UP TO IHP V1, WHERE THE AIRCRAFT WILL STOP, WAITING FOR APRON 4 COORDINATOR (TAG) FOLLOW-ME CAR.
-DURING LVP CONDITIONS, WHEN RVR MEASURED AT LEAST IN ONE OF **AVAILABLE** TRANSMISSOMETERS IS BELOW 400 M, AFTER LEADING AIRCRAFT TO IHP V1, APT OPERATOR FOLLOW-ME CAR WILL STOP WAITING TO BE RELIEVED BY APRON 4 COORDINATOR (TAG) FOLLOW-ME CAR TAG (NORMALLY WAITING ON LEFT SIDE OF AIRCRAFT STAND TAXILANE V).
-AFTER BEING RELIEVED BY APRON COORDINATOR FOLLOW-ME CAR TAG, APT OPERATOR FOLLOW-ME CAR WILL TURN OFF FLASHING LIGHTS AND WILL CLEAR AIRCRAFT STAND TAXILANE V ON HIS LEFT SIDE.
6) OPERATIONS ALLOWED ON APRON 4 FOR DEPARTING AIRCRAFT AND HELICOPTERS
AIRCRAFT DEPARTING FROM APRON 4 ARE ALLOWED TO PERFORM THE FOLLOWING PART 6 OF 10

OPERATIONS WITH COMPULSORY ASSISTANCE OF FOLLOW-ME CAR AND MARSHALLER:
A) START UP:
START-UP OPERATIONS FOR AIRCRAFT ON APRON 4 CAN BE PERFORMED ONLY AFTER APRON COORDINATOR HAS CARRIED OUT PROPER CHECKS RELATED TO NECESSARY SAFETY CONDITIONS (AIRCRAFT STAND/START-UP AREA/JET BLAST AREA CLEAR OF AIRCRAFT, MEN, EQUIPMENT AND OBSTACLES).
START-UP OPERATIONS ON APRON 4 ALLOWED ONLY ON FOLLOWING AREAS:
-AIRCRAFT STANDS
-START POINTS V3 AND V4
-REFUELLING POSITION
RMK: START-UP ON APRON 4 FOR IFR FLIGHTS ALLOWED ONLY UPON TWR AUTH PART 7 OF 10

B) TAXIING:

TAXIING OPERATIONS OF DEPARTING AIRCRAFT FROM APRON 4 CAN BE PERFORMED ONLY WITH COMPULSORY FOLLOW-ME CAR ASSISTANCE ACCORDING TO THE FOLLOWING PROCEDURE:
- AFTER START-UP, IFR AND VFR FLIGHTS WILL REPORT 'READY FOR TAXI' TO THE TWR
- IF NO ARRIVING AIRCRAFT IS PROCEEDING TO APRON 4, TWR WILL INSTRUCT DEPARTING AIRCRAFT TO TAXI TO IHP V1 AND WILL INFORM FOLLOW-ME CAR BY RADIO
- AFTER REACHING IHP V1 WITH FOLLOW-ME CAR GUIDANCE, AIRCRAFT MUST STOP AND REPORT POSITION TO THE TWR WAITING FOR FURTHER INSTRUCTIONS - AFTER LEADING AIRCRAFT TO IHP V1, FOLLOW-ME CAR WILL TURN OFF FLASHING LIGHTS AND WILL CLEAR AIRCRAFT STAND TAXILANE V
7) GENERAL AVIATION AIRCRAFT REFUELLING
- **FUEL** TRUCK CIRCULATION NOT ALLOWED ON APRON 4.
- REFUELLING ON APRON 4 ALLOWED ONLY BY FIXED FACILITY, ONLY JET A1 **FUEL AVAILABLE** HR 0500-2100 (0400-2000).
-REFUELLING WITH TRUCK-SERVICE ALLOWED ONLY ON APRON 1 AND 2 (STAND REQUEST, ON APRON 1 AND 2, TO BE PREVIOUSLY COORDINATED BY CARRIER WITH HANDLING AGENT).
-AVGAS-100LL **NOT AVAILABLE**
PART 8 OF 10

8) ENGINE RUN-UPS AND USE OF APU
-ENGINE RUN-UPS ON APRON 4 ARE ALLOWED ACCORDING TO PROCEDURE REPORTED IN **AD** 2 LIPE, ITEM 21 NOISE ABATEMENT PROCEDURES, SUBITEM 3 GROUND RESTRICTIONS, PARAGRAPH 3.
-HELICOPTERS WHICH NEED TO PERFORM ENGINE RUN-UPS MUST BE LOCATED IN NE CORNER OF THE APRON 4 AND OPERATION AREA MUST BE PROPERLY SIGNALLED BY APRON COORDINATOR.
9) OPERATIONS NOT ADMITTED
FOLLOWING OPERATIONS ARE PROHIBITED ON APRON 4 AND ON AIRCRAFT STAND TAXILANE V:
PART 9 OF 10

A) SKIDDED HELICOPTERS OPERATIONS
B) HOVERING AND AIR TAXI OPERATIONS
AIRPLANES AND HELICOPTERS ARE NOT ALLOWED TO STOP ON AREAS ADJACENT TO APRON 4
10) PASSENGERS EMBARKING/DISEMBARKING OPERATIONS
- PASSENGERS EMBARKING/DISEMBARKING FROM/TO AIRPLANES WITH ENGINES RUNNING ARE NOT ALLOWED.
- PASSENGERS EMBARKING/DISEMBARKING FROM/TO HELICOPTERS WITH ROTORS TURNING ARE ALLOWED, PROVIDED THAT HANDLER OR CREW MEMBERS, PROPERLY TRAINED FOR SUCH DUTY, ARE ABLE TO ESCORT PASSENGERS AND TO ENSURE INDICATIONS, IN ORDER TO REACH A SAFE AREA AFTER DISEMBARKING OR TO BOARD SAFELY THE HELICOPTER WITH THE ROTORS TURNING.
-PASSENGER ESCORT TO/FROM TERMINAL MUST BE PERFORMED POSSIBLY USING MINI-VAN PROVIDED BY THE HANDLER. ALTERNATIVELY, ESCORT OF PASSENGERS WALKING TO/FROM TERMINAL ISALLOWED, PROVIDED THAT HANDLER HAS VERIFIED SAFETY CONDITIONS ONTHE APRON AND PASSENGERS ARE ESCORTED BY HANDLING PERSONNEL.
REF AIP **AD** 2 LIPE 1-17 'LOCAL AERODROME REGULATIONS'
PART 10 OF 10

A0581/26
NEW MOBILE CRANE ERECTED PENETRATING INNER HORIZONTAL SURFACE: PSN
COORD (WGS84) 443102.6N 0111912.6E
ELEV AGL 46.9M/153.9FT
ELEV AMSL 84.5M/277.2FT
ROTATING JIB RADIUS 66.0M/216.6FT
RMK: ICAO SGL PROVIDED
REF AIP **AD** 2 LIPE 3-3 (AOC TYPE B NR PE 4/4

A0573/26
APRON 3 AND APRON 4 LAYOUT:
APRON 3
- STAND 301 **AVAILABLE** FOR ACFT UP TO ICAO CODE C
- STAND 302 **AVBL** FOR ACFT UP TO ICAO CODE F
- APRON **TWY** 'W' INTRP BTN **TWY** 'TV' (AVAILABLE) AND
START POINT 'K1' (NOT AVAILABLE)
APRON 4
- **TWY** 'TV' **AVAILABLE** ONLY FOR ACFT UP TO ICAO CODE B
- START POINT 'V2' **NOT AVBL**
- STAND 401/4011/4012/402/4021/4022 PERMANENTLY REMOVED
REF AIP **AD** 2 LIPE 2-7

A0288/26
NEW OBSTACLE ERECTED CRANE PENETRATING
TAKE-OFF FLIGHT PATH AREA (TOFPA) **RWY 12**
PSN COORD (WGS-84): 443112.8N 0112006.3E
MAX ELEV AGL 46.8M/153.6FT
MAX ELEV AMSL 82.6M/271.0FT
ROTATING JIB 41.1/134.9 FT
RMK: ICAO SIGNAL PROVIDED
REF AIP **AD** 2 LIPE 3-3 (AOC TYPE B NR PE 4/4

A4439/25
LED LIGHT UNITS **AVBL** ON FOLLOWING FACILITIES:
-CENTRELINE DEICING PAD, **TWY TV**, TK, TW, ACFT STAND TAXILANE W
-TAXIWAY EDGE LIGHTS **TWY TL**, TM, TP
-LIGHTED SIGNS NORTH **TWY TV**, TK, TW, TL, TY
-LIGHTED SIGNS WEST **TWY TK**
REF AIP **AD** 2 LIPE 1-9 ITEM **AD** 2.9
'SURFACE MOVEMENT GUIDANCE AND CONTROL SYSTEM AND MARKINGS' POINT
2 'RWY AND **TWY** MARKINGS AND LIGHTS'

A2888/25
AIRCRAFT STAND 2151 COMPLETELY **WITHDRAWN**
REF AIP **AD** LIPE 2-7 'AIRCRAFT PARKING DOCKING CHART ICAO'

++++++++++++++++++++++++++++++ RUNWAY ++++++++++++++++++++++++++++++

A4440/25
RUNWAY PHYSICAL CHARACTERISTICS BOX 6 'THR ELEV / MAX TDZ ELEV
OFPRECISION APCH RWY':
RWY30 120.5FT / 120.0FT
BOX 7 'RWY-SWY SLOPE':
RWY12 LONGITUDINAL: 0.02 PERCENT
RWY30 LONGITUDINAL: 0.03 PERCENT
OTHER DATA UNCHANGED
REF AIP **AD** 2 LIPE 1-10 (ITEM 2.12

A2154/25
RWY 12 1) DTHR 310 M 2) STRIP COMPLIANT WITH EASA REGULATIONS
RWY 30 1) DTHR 362 M 2) STRIP COMPLIANT WITH EASA REGULATIONS
REF AIP **AD** 2 LIPE 1-10 ITEM 2.12 'RUNWAY PHYSICAL
CHARACTERISTICS', BOX 13 'REMARKS'

A1052/25
RUNWAY PHYSICAL CHARACTERISTICS.
THR ELEV / MAX TDZ ELEV OF **RWY** FOR PRECISION APCH
CHG TO READ:
RWY 12: 120.0 FT / 120.0 FT
RWY 30: 120.0 FT / 120.0 FT
REF AIP **AD** 2 LIPE 1-9

++++++++++++++++++++++ APPROACH PROCEDURES ++++++++++++++++++++++

A6805/25
INSTRUMENT APCH PROCEDURE CHARTS:
- RNP RWY12
- RNP RWY30
ALL VALUES OF MOCA (MINIMUM OBSTACLE CLEARANCE ALTITUDE) IN PROFILE VIEW SHALL BE RAISED TO THE LOWER ALTITUDE OF THE RELATED SEGMENT OF THE PROCEDURE.
REF AIP **AD** 2 LIPE 5-7 AND 5-15

==========
EXTENDED AREA AROUND DEPARTURE
==========

LSAS SWITZERLAND FIR/UIR

++++++++++++++++++++++++++ FIR/UIR ++++++++++++++++++++++++++

B0777/26
CABLE CAR GRIMENTZ-SOREBOIS WITHOUT ORANGE MARKINGS
461035N0073426E - 460902N0073543E,
MAX 206M / 676FT AGL, 2701M / 8863FT AMSL.
(OBST NR 273VS30133).
A0272/26
DRG AERO 2026 EXP DLA FOR CHANGE OF FLT RULES 25NM RADIUS AROUND EDNY DUE TO POSS HIGH TFC VOLUME AND FREQ CONGESTION.
A0234/26
UNAUTHORIZED RADIO TRANSMISSIONS RECEIVED ON SEVERAL FREQ IN THE SOUTHEAST SWITZERLAND REGION AND BORDER AREA WITH ITALY.
TRANSMISSIONS ARE NOT FROM AN ATS UNIT.
PILOTS SHALL DISREGARD ANY NON-STANDARD CALLS AND IF IN DOUBT, VERIFY THE CALL AND REPORT TIME, LOCATION AND FL OF THE OCCURRENCE TO ATC UNIT IN CTC.
A0228/26
IFR FLT SHALL USE SSR CODE 7600 IN CASE OF RCF EVEN WHEN CONTINUING IN VMC TO THE NEAREST SUITABLE **AD**. SSR CODE 7601 AS DEFINED BY SERA 14083 NOT YET IMPLEMENTED.
B0552/26
STS INFO OF AIRSPACE ACTIVATION OF ZURICH TMA SECT S1/S2/S3 (HX), DUBENDORF CTR AND DUBENDORF TMA SECT 1/2 (HX) IS BROADCASTED ON ZURICH TERMINAL 127.755.
B0458/26
POLE OBST RED LGT **U/S**, 7.5KM SE OF EMBRACH, PSN 472838N0084111E,
MAX 54.0M / 177 FT AGL, 664.0M / 2178.5 FT AMSL
(OBST NR 216ZH00014).

A0109/26
UKRAINIAN CRISIS
1. ALL AIRCRAFT OWNED, CHARTERED, OPERATED OR OTHERWISE CONTROLLED BY CITIZENS OF THE RUSSIAN FEDERATION AND ALL OPERATORS HOLDING AIR OPERATOR CERTIFICATE (AOC) ISSUED BY THE RUSSIAN FEDERATION AUTHORITIES ARE PROHIBITED TO ENTER, EXIT OR OVERFLY THE SWISS AIRSPACE EXC HUMANITARIAN FLT, SEARCH AND RESCUE FLT AND LEASED ACFT ONE-WAY RTN FLT WITH THE PERMISSION OF THE APPROPRIATE SWISS AUTHORITIES AND IN CASE OF EMERGENCY LDG OR EMERGENCY OVERFLIGHT.
FLIGHTS WITH A VALID DIPLOMATIC CLEARANCE NOT AFFECTED.
2. AIRCRAFT OPERATORS OF NON-SCHEDULED FLT BETWEEN RUSSIA AND SWITZERLAND, OPERATED DIRECTLY OR VIA A THIRD COUNTRY, MUST NOTIFY ALL RELEVANT INFORMATION CONCERNING THE FLT PRIOR TO THEIR OPERATION AND AT LEAST 48 HR IN ADVANCE TO THE FEDERAL OFFICE OF CIVIL AVIATION. CONTACT FOR NOTIFICATION AND DOCUMENTS WWW.BAZL.ADMIN.CH/AVIATIONSANCTIONS.

A0108/26
SWISS AIR CARRIERS AND COMMANDERS OF AIRCRAFT IN CHARGE OF AIR SERVICE MANAGED BY CARRIERS HOLDERS OF OPERATING LICENCE ISSUED BY SWITZERLAND, WHETHER THEY ARE CONTRACTUAL CARRIERS AND/OR DE FACTO CARRIERS, OR PERFORMING AIR SERVICE WITH COMMERCIAL CHARTER AGREEMENT OR WITH CODE SHARING AND TO ALL FLIGHT PERFORMED WITH SWISS AIRCRAFT REGISTRATION, ARE REQUESTED TO CONSULT EASA SIB-2021-10 AND ARE REQUESTED TO AVOID MINSK FIR (UMMV).
FOREIGN AIR CARRIERS INBOUND SWITZERLAND ARE RECOMMENDED TO AVOID MINSK FIR (UMMV).

A0107/26
UKRAINIAN CRISIS
ALL ACFT AND ALL OPERATORS HOLDING AIR OPERATOR CERTIFICATE (AOC) ISSUED BY BELARUSIAN AUTHORITIES PROHIBITED TO USE SWISS AIRPORTS EXC WITH PERMISSION OF APPROPRIATE AUTHORITIES OF SWITZERLAND AND IN CASE OF EMERG LDG. FLT WITH A VALID DIPLOMATIC CLR NOT AFFECTED.

++++++++++++++++++++++ RESTRICTED AIRSPACE ++++++++++++++++++++++

W1137/26 VALID: 22-APR-26 1600 - 23-APR-26 2000
22 1600-2000, 23 0600-1000 1100-2000
R-AREA LSR57 ROSSBODEN-RHEINSAND ACT DUE TO FRNG.
F) GND G) 6500FT AMSL

W1135/26
APR 22 29-30 MAY 05-06 0700-2000, APR 23 MAY 07 0700-1600, APR 24, 0700-1000, 28 1100-1600, MAY 01 0700-1100
R-AREA LSR12 SIMPLON ACT DUE TO FRNG.
F) GND G) 22500FT AMSL

W1133/26
22 0630-1500, 23 0800-2000, 24 0900-1500
R-AREA LSR18 BURE ACT DUE TO MIL UAV ACT.
F) GND G) 4500FT AMSL

W1113/26
22-23 0600-1000 1100-2000
R-AREA LSR57 ROSSBODEN-RHEINSAND ACT DUE TO FRNG.
F) GND G) 6500FT AMSL

W1141/26
APR 22-23 29 MAY 04 06 0600-1500, APR 28 30 MAY 05 0600-1500, 1700-1900, 01 0600-1000
R-AREA LSR11A S-CHANF ACT.
F) 7000FT AMSL G) 31500FT AMSL

W1139/26
APR 22-23 29 MAY 04 06 0600-1500, APR 28 MAY 05 0600-1500,
1700-1900, 01 0600-1000
R-AREA LSR11 S-CHANF ACT.
F) GND G) 31500FT AMSL
W1143/26
22-23 0600-1000 1100-2000
R-AREA LSR57 ROSSBODEN-RHEINSAND ACT DUE TO FRNG.
F) GND G) 6500FT AMSL
W1131/26
APR 21 1700-1900, 22 29 MAY 04 06 0600-1500, APR 23 28 30 MAY 05,
0600-1500 1700-1900, 01 0600-1000
R-AREA LSR11A S-CHANF ACT.
F) 7000FT AMSL G) 31500FT AMSL
W1129/26
APR 21 1700-1900, 22 29 MAY 04 06 0600-1500, APR 23 28 MAY 05,
0600-1500 1700-1900, 01 0600-1000
R-AREA LSR11 S-CHANF ACT.
F) GND G) 31500FT AMSL
W1103/26
APR 21-22 29-30 MAY 05-06 0700-2000, APR 23 MAY 07 0700-1600, APR,
24 0700-1000, 28 1100-1600, MAY 01 0700-1100
R-AREA LSR12 SIMPLON ACT DUE TO FRNG.
F) GND G) 22500FT AMSL
W1127/26
21 0630-1830, 22 0630-1700, 23 27-28 0530-2100, 24 0530-1900, 29,
0530-1400
R-AREA LSR14 SANTIS ACT DUE TO FRNG.
F) GND G) 12500FT AMSL
W1068/26
APR 21 23 28 MAY 05 0600-1500 1700-1900, APR 22 29 MAY 04 06,
0600-1500, 01 0600-1000
R-AREA LSR11 S-CHANF ACT.
F) GND G) 31500FT AMSL
W1070/26
APR 21 23 28 30 MAY 05 0600-1500 1700-1900, APR 22 29 MAY 04 06,
0600-1500, 01 0600-1000
R-AREA LSR11A S-CHANF ACT.
F) 7000FT AMSL G) 31500FT AMSL
W1107/26
20 0700-1900, 21 0630-1830, 22 24 0530-1900, 23 27-28 0530-2100,,
29 0530-1400
R-AREA LSR14 SANTIS ACT DUE TO FRNG.
F) GND G) 12500FT AMSL
W1091/26
17 24 0530-1400, 21-23 0530-2100
R-AREA LSR7 HONGRIN ACT DUE TO FRNG.
F) GND G) 15500FT AMSL
W1093/26
17-18 20-24 0530-1600
TEMPO D-AREA PATROUILLE DES GLACIERS ESTABLISHED WI AERA:
460546N0071343E 461050N0072417E 460810N0073733E 460116N0074457E
455851N0073938E 455845N0072113E 460546N0071343E (460332N0072921E
RADIUS 11.2NM), WI SWISS AIRSPACE ONLY.
EXP INTENSE HEL FLT ACT. NO COORDINATION FREQ OR TEL NUMBER **AVBL**.
F) GND G) FL130
W0560/26
16 23 0800-2000, 21 1100-1500, 22 0630-1500, 24 0900-1500
R-AREA LSR18 BURE ACT DUE TO MIL UAV ACT.
F) GND G) 4500FT AMSL

W0314/26
APR 13-16 20-23 27-30 MAY 04-07 11-13 0600-1000 1100-2100
D-AREA LSD12 SIHLTAL ACT.
F) GND G) 9850FT AMSL

++++++++++++++++++++++++++++++ ROUTE ++++++++++++++++++++++++++++++

A0161/26
ATS RTE N871:
KONOL-BERSU MEA SHALL READ 6000FT.
REF AIP ENR 3.2-12
A0163/26
ATS RTE Z59:
KONOL-BALIR MEA SHALL READ 7000FT.
REF AIP ENR 3.2-61
A0162/26
ATS RTE Z119:
FRIBU-TELNO MEA SHALL READ 8000FT.
REF AIP ENR 3.2-72
A0211/26
ATS RTE T627: MAX IAS 250 KT FROM LUTIX.
REF AIP SWITZERLAND ENR 3.2.

==========
EXTENDED AREA AROUND DESTINATION
==========

LIMM MILAN FIR/UIR

++++++++++++++++++++++++++++++ FIR/UIR ++++++++++++++++++++++++++++++

M2273/26
MILANO SCCAM FREQ 121.140MHZ **NOT AVBL** DUE TO TECR REF MILAIP ENR 2.1.1.1-5
E0941/26
MILANO SCCAM (ITALIAN AIR FORCE COORDINATION AND CONTROL SERVICE)
FREQ 121.140MHZ **NOT AVBL** DUE TO TECR
REF AIP ENR 2.1.1.1-3
E0478/26
TRIGGER NOTAM-PERM AIP AIRAC AMDT 4/26 EFFECTIVE DATE 16 APR 2026
TRANSITION OF GENOVA APP SERVICES TO MILANO ACC
AIRAC IS POSTED AND **AVBL** ON WEBSITE WWW.ENAV.IT
E0479/26
TRIGGER NOTAM-PERM AIP AIRAC AMDT 4/26 EFFECTIVE DATE 16 APR 2026
ENR 2.1.1.1 'MILANO FIR/UIR'
CHG OF MILANO ACC FREQUENCIES
AIRAC IS POSTED AND **AVBL** ON WEBSITE WWW.ENAV.IT
E0480/26
TRIGGER NOTAM-PERM AIP AIRAC AMDT 4/26 EFFECTIVE DATE 16 APR 2026
ENR 2.1.2.15 'GENOVA CTR'
COMPLETE REVIEW
AIRAC IS POSTED AND **AVBL** ON WEBSITE WWW.ENAV.IT

E0482/26
TRIGGER NOTAM-PERM AIP AIRAC AMDT 4/26 EFFECTIVE DATE 16 APR 2026
ENR 2.1.1.4 MILANO CTA
IMPLEMENTATION OF THE FOLLOWING ZONES:
ZONE '32' - LANGHE
ZONE '33' - GOLFO DI GENOVA
ZONE '34' - MAR LIGURE
ZONE '35' - POLCEVERA
ZONE '36' - VALLE D'AVETO
ZONE '37' - TURCHINO
ZONE '38' - RIVIERA DI PONENTE
ZONE '39' - ROCCA LIVERNA
CHANGE OF LATERAL LIMITS OF THE FOLLOWINFG ZONES:
ZONE '4' - CINQUE TERRE
ZONE '7' - MONDOVI'
ZONE '9' - LIGURIA
ZONE '10' - PIEMONTE
CHANGE OF VERTICAL LIMITS OF THE FOLLOWING ZONES:
ZONE '24' - DON BOSCO
ZONE '26' - PINEROLO
AIRAC IS POSTED AND **AVBL** ON WEBSITE WWW.ENAV.IT

E0484/26
TRIGGER NOTAM-PERM AIP AIRAC AMDT 4/26 EFFECTIVE DATE 16 APR 2026
UPDATE OF GEN 4.1 SECTION 'AERODROME/HELIPORT CHARGES'
AIRAC IS POSTED AND **AVBL** ON WEBSITE WWW.ENAV.IT

E0841/26
OBSTACLE LIGHT UNSERVICEABLE ON LATTICE TOWER
REGION LIGURIA/ DISTRICT GENOVA/ TOWN PORTOFINO/
IDENT 'T000737' COORDINATES 441956N 0091016E/
/ELEVATION AGL 130M/427FT/ELEVATION AMSL 550M/1804FT
REF AIP ENR 5.4.1.8-1

E0835/26
MON-THU 1000-1100
CAMERI ATZ.
ATS COMMUNICATION FACILITIES 'CAMERI TWR' NOT PROVIDED.
REF AIP ENR 2.1.3-3

E0793/26
NIL NOTIFICATION.
AIP AMDT PUBLICATION DATE 02 APR 2026: NIL

E0646/26
MON-THU 0000-0530 2100-2359, FRI 0000-0530 1800-2359, SAT SUN H24,
EXC APR 06
ROMA SCCAM (ITALIAN AIR FORCE COORDINATION AND CONTROL SERVICE)
ATS NOT PROVIDED
RMK:
- DIFFERENT ATS OPENING TIME **AVBL** PN AT LEAST 5 WORKING DAYS TO:
SCCAMCIAMPINO.OPS(A)AERONAUTICA.DIFESA.IT
- SAR, EMERG, SECURITY AIR TRAFFIC AND UNMANNED ACTIVITY NOT
AFFECTED
- OPERATIONAL COORDINATION ASSURED H24
REF AIP ENR 2.1.1.2-4

E0651/26
MON-THU 0000-0530 2100-2359, FRI 0000-0530 1800-2359,, SAT SUN H24
EXC APR 06
MILANO SCCAM (ITALIAN AIR FORCE COOR AND CTL SER).
ATS NOT PROVIDED.
RMK:
- DIFFERENT ATS OPENING TIME **AVBL** PN AT LEAST 5 WORKING DAYS TO:
SCCAMCIAMPINO.OPS(AT)AERONAUTICA.DIFESA.IT
- EMERG AND SECURITY AIR TRAFFIC ACTIVITY NOT AFFECTED
- OPERATIONAL COORDINATION ASSURED H24
REF AIP ENR 2.1.1.2-3

E0660/26
MON-THU 0000-0530 2100-2359, FRI 0000-0530 1800-2359, SAT SUN H24
EXC APR 06
PADOVA SCCAM (ITALIAN AIR FORCE COOR AND CONTROL SERVICE)
ATS NOT PROVIDED.
RMK:
- DIFFERENT ATS OPENING TIME **AVBL** PN AT LEAST 5 WORKING DAYS TO:
SCCAMCIAMPINO.OPS(AT)AERONAUTICA.DIFESA.IT
- EMERG AND SECURITY AIR TRAFFIC NOT AFFECTED
- OPERATIONAL COORDINATION ASSURED H24
REF AIP ENR 2.1.1.1-19

E0719/26
OBSTACLE LIGHT ON LATTICE TOWER
REGION 'TOSCANA' DISTRICT 'PISA' TOWN 'CALCI' SITE 'MONTE SERRA'
IDENT 'T001073' PSN COORD (WGS-84): 434458N 0103314E
ELEV AGL 145M/476FT, ELEV AMSL 1060M/3478FT
UNSERVICEABLE
REF AIP ENR 5.4.1.16-3

E0669/26
MON-THU 0000-0530 1900-2359, FRI 0000-0530 1800-2359, SAT SUN H24,
EXC APR 06
BRINDISI SCCAM (ITALIAN AIR FORCE COORDINATION AND CONTROL
SERVICE) ATS NOT PROVIDED.
RMK: DIFFERENT ATS OPENING TIME **AVBL** PN AT LEAST 5 WORKING DAYS
TO: SCCAMCIAMPINO.OPS(AT)AERONAUTICA.DIFESA.IT
- EMERG AND SECURITY AIR TRAFFIC NOT AFFECTED
- OPERATIONAL COORDINATION ASSURED H24
REF AIP ENR 2.1.1.3-2

E0654/26
UNAUTHORIZED RADIO TRANSMISSIONS REPORTED ON SEVERAL ATS FREQ
WITHIN NORTH/NORTHEAST MILANO FIR AND ADJACENT AREA
ALONG SWITZERLAND BORDER / TRANSMISSIONS ARE NOT ATTRIBUTABLE TO
ANY ATS UNIT / PILOTS ARE ADVISED TO:
- DISREGARD ANY NON-STANDARD OR SUSPICIOUS CALLS
- VERIFY AUTHENTICITY OF ATS INSTRUCTIONS WHEN IN DOUBT
- MAINTAIN STRICT ADHERENCE TO ASSIGNED FREQUENCIES AND PROCEDURES
- REPORT ANY OCCURRENCE (INCLUDING TIME, POSITION AND FL)
TO THE ATS UNIT IN CONTACT

E0648/26
OBST LGT ON CHIMNEYS UNSERVICEABLE:
- DISTRICT 'MILANO', TOWN 'VAREDO', SITE 'VAREDO'
IDENT T000954 COORD (WGS-84:) 453530N0090853E
ELEV AGL 103M/338FT, ELEV AMSL 278M/912FT.
- DISTRICT 'MILANO', TOWN 'VAREDO', SITE 'VAREDO'
IDENT T000955 COORD (WGS-84) 453540N0090909E
ELEV AGL 114M/374FT ELEV AMSL 290M/951FT
REF AIP ENR 5.4.1.9-5

E0574/26
ITALIAN AIR CARRIERS AND CAPTAINS OF AIRCRAFT IN CHARGE OF AIR SERVICES OPERATED BY CARRIERS HOLDING AN OPERATING LICENSE ISSUED BY ITALY, WHETHER THEY ARE CONTRACTUAL CARRIERS AND/OR OPERATING CARRIERS, OR PERFORMING AIR SERVICES THROUGH A WET LEASE OR A CODESHARE AGREEMENT AS WELL AS FOR ANY FLIGHT MADE WITH AN AIRCRAFT REGISTERED IN ITALY WHEN PLANNING FLIGHT OPERATIONS SHALL TAKE INTO SERIOUS CONSIDERATION THE HAZARDOUS SITUATION POSED WITHIN ADDIS ABEBA FIR (HAAA) FROM DEDICATED ANTI AVIATION WEAPONRY IN THEIR RISK ASSESSMENTS AND ROUTING DECISIONS ACCORDING TO EASA SAFETY DIRECTIVES

E0573/26
ENTRY, EXIT AND OVERFLIGHT OF ITALIAN AIRSPACE IS PROHIBITED FOR ALL COMMERCIAL ACFT OPERATORS REGISTERED IN THE REPUBLIC OF BELARUS INCLUDING AS A MARKETING CARRIER IN CODE SHARING OR BLOCKSPACE ARRANGEMENTS, EXC FOR ACFT IN EMERGENCY, SAR AND FLT FOR HUMANITARIAN PURPOSES, ACCORDING TO COUNCIL REGULATION OF EUROPEAN UNION 907/2021 OF 4TH OF JUNE 2021
REF AIP GEN 1.2-1

E0572/26
UKRAINIAN CRISIS
ACCORDING TO EU REGULATION 833/2014, AS AMENDED BY EU REGULATION 2022/334, FOR ANY AIRCRAFT OPERATED BY RUSSIAN AIR CARRIERS, INCLUDING AS A MARKETING CARRIER IN CODE-SHARING OR BLOCKED-SPACE ARRANGEMENTS, OR FOR ANY RUSSIAN REGISTERED AIRCRAFT, OR FOR ANY NON-RUSSIAN-REGISTERED AIRCRAFT WHICH IS OWNED OR CHARTERED, OR OTHERWISE CONTROLLED BY ANY RUSSIAN NATURAL OR LEGAL PERSON, ENTITY OR BODY, IS PROHIBITED TO LAND IN, TAKE OFF FROM OR OVERFLY ITALIAN TERRITORY EXCEPT HUMANITARIAN, SAR AND LEASED AIRCRAFT ONE-WAY RETURN-FLIGHTS WITH THE PERMISSION OF THE APPROPRIATE ITALIAN AUTHORITIES AND IN CASE OF EMERGENCY LANDING OR EMERGENCY OVERFLIGHT.

E0571/26
ITALIAN AIR CARRIERS AND CAPTAINS OF AIRCRAFT IN CHARGE OF AIR SERVICES OPERATED BY CARRIERS HOLDING AN OPERATING LICENSE ISSUED BY ITALY, WHETHER THEY ARE CONTRACTUAL CARRIERS AND/OR OPERATING CARRIERS, OR PERFORMING AIR SERVICES THROUGH A WET LEASE OR A CODESHARE AGREEMENT AS WELL AS FOR ANY FLIGHT MADE WITH AN AIRCRAFT REGISTERED IN ITALY WHEN PLANNING FLIGHT OPERATIONS WITHIN JEDDAH FIR (OEJD) ARE RECOMMENDED TO EXERCISE ENHANCED **CAUTION** AND TO FOLLOW INSTRUCTIONS FROM SAUDI AUTHORITIES PROVIDING AIR TRAFFIC MANAGEMENT PAYING PARTICULAR ATTENTION TO RESTRICTIONS OR INTERDICTIONS PUBLISHED WITH VERY SHORT NOTICE AND TO EASA SAFETY DIRECTIVES.

E0570/26
ITALIAN AIR CARRIERS AND CAPTAINS OF AIRCRAFT IN CHARGE OF AIR SERVICES OPERATED BY CARRIERS HOLDING AN OPERATING LICENSE ISSUED BY ITALY, WHETHER THEY ARE CONTRACTUAL CARRIERS AND/OR OPERATING CARRIERS, OR PERFORMING AIR SERVICES THROUGH A WET LEASE OR A CODESHARE AGREEMENT AS WELL AS FOR ANY FLIGHT MADE WITH AN AIRCRAFT REGISTERED IN ITALY ARE RECOMMENDED TO AVOID KARTHOUM FIR (HSSS) AT ALL ALTITUDES ACCORDING TO EASA SAFETY DIRECTIVES.

E0568/26
ITALIAN AIR CARRIERS AND CAPTAINS OF AIRCRAFT IN CHARGE OF AIR SERVICES OPERATED BY CARRIERS HOLDING AN OPERATING LICENSE ISSUED BY ITALY, WHETHER THEY ARE CONTRACTUAL CARRIERS AND/OR OPERATING CARRIERS, OR PERFORMING AIR SERVICES THROUGH A WET LEASE OR A CODESHARE AGREEMENT AS WELL AS FOR ANY FLIGHT MADE WITH AN AIRCRAFT REGISTERED IN ITALY ARE RECOMMENDED TO AVOID HEIGHT BELOW 25000FT AGL IN MOGADISHU FIR (HCSM) ACCORDING TO EASA SAFETY DIRECTIVES.

E0569/26
ITALIAN AIR CARRIERS AND CAPTAINS OF AIRCRAFT IN CHARGE OF AIR SERVICES OPERATED BY CARRIERS HOLDING AN OPERATING LICENSE ISSUED BY ITALY, WHETHER THEY ARE CONTRACTUAL CARRIERS AND/OR OPERATING CARRIERS, OR PERFORMING AIR SERVICES THROUGH A WET LEASE OR A CODESHARE AGREEMENT AS WELL AS FOR ANY FLIGHT MADE WITH AN AIRCRAFT REGISTERED IN ITALY WHEN PLANNING FLIGHT OPERATIONS ARE RECOMMENDED TO AVOID LAHORE FIR (OPLR) AND KARACHI FIR (OPKR) BELOW HEIGHT 25000FT AGL MONITORING EASA SAFETY DIRECTIVES.

E0566/26
ITALIAN AIR CARRIERS AND CAPTAINS OF AIRCRAFT IN CHARGE OF AIR SERVICES OPERATED BY CARRIERS HOLDING AN OPERATING LICENSE ISSUED BY ITALY, WHETHER THEY ARE CONTRACTUAL CARRIERS AND/OR OPERATING CARRIERS, OR PERFORMING AIR SERVICES THROUGH A WET LEASE OR A CODESHARE AGREEMENT AS WELL AS FOR ANY FLIGHT MADE WITH AN AIRCRAFT REGISTERED IN ITALY ARE RECOMMENDED TO AVOID HEIGHT BELOW 15000FT ABOVE GROUND LEVEL IN YANGON FIR (VYYF) ENSURING ROBUST RISK ASSESSMENT ACCORDING TO EASA SAFETY DIRECTIVES.

E0567/26
ITALIAN AIR CARRIERS AND CAPTAINS OF AIRCRAFT IN CHARGE OF AIR SERVICES OPERATED BY CARRIERS HOLDING AN OPERATING LICENSE ISSUED BY ITALY, WHETHER THEY ARE CONTRACTUAL CARRIERS AND/OR OPERATING CARRIERS, OR PERFORMING AIR SERVICES THROUGH A WET LEASE OR A CODESHARE AGREEMENT AS WELL AS FOR ANY FLIGHT MADE WITH AN AIRCRAFT REGISTERED IN ITALY ARE RECOMMENDED TO EXERCISE ENHANCED **CAUTION** WHEN OVERFLYING OR OPERATING FLIGHTS TO TEL AVIV FIR (LLLL) IN PARTICULAR TO FOLLOW INSTRUCTIONS FROM ISRAELI AUTHORITIES AND TO PAY PARTICULAR ATTENTION TO RESTRICTIONS OR INTERDICTIONS PUBLISHED BY NOTAM WITH VERY SHORT NOTICE DUE TO POTENTIALLY FAST EVOLVING SITUATION AND EASA SAFETY DIRECTIVES.

E0565/26
ITALIAN AIR CARRIERS AND CAPTAINS OF AIRCRAFT IN CHARGE OF AIR SERVICES OPERATED BY CARRIERS HOLDING AN OPERATING LICENSE ISSUED BY ITALY, WHETHER THEY ARE CONTRACTUAL CARRIERS AND/OR OPERATING CARRIERS, OR PERFORMING AIR SERVICES THROUGH A WET LEASE OR A CODESHARE AGREEMENT AS WELL AS FOR ANY FLIGHT MADE WITH AN AIRCRAFT REGISTERED IN ITALY ARE RECOMMENDED TO AVOID PLANNING FLIGHT OPERATIONS IN SANAA FIR (OYSC) AND SOUTHERN RED SEA AT ALL ALTITUDES ENSURING ROBUST RISK ASSESSMENT ACCORDING TO EASA SAFETY DIRECTIVES.

E0564/26
ITALIAN AIR CARRIERS AND CAPTAINS OF AIRCRAFT IN CHARGE OF AIR SERVICES OPERATED BY CARRIERS HOLDING AN OPERATING LICENSE ISSUED BY ITALY, WHETHER THEY ARE CONTRACTUAL CARRIERS AND/OR OPERATING CARRIERS, OR PERFORMING AIR SERVICES THROUGH A WET LEASE OR A CODESHARE AGREEMENT AS WELL AS FOR ANY FLIGHT MADE WITH AN AIRCRAFT REGISTERED IN ITALY ARE RECOMMENDED TO AVOID BAGHDAD FIR (ORBB) ACCORDING TO EASA SAFETY DIRECTIVES.

E0563/26
ITALIAN AIR CARRIERS AND CAPTAINS OF AIRCRAFT IN CHARGE OF AIR SERVICES OPERATED BY CARRIERS HOLDING AN OPERATING LICENSE ISSUED BY ITALY, WHETHER THEY ARE CONTRACTUAL CARRIERS AND/OR OPERATING CARRIERS, OR PERFORMING AIR SERVICES THROUGH A WET LEASE OR A CODESHARE AGREEMENT AS WELL AS FOR ANY FLIGHT MADE WITH AN AIRCRAFT REGISTERED IN ITALY ARE RECOMMENDED TO OPERATE WITHIN AIRSPACE OF LEBANON FIR BEIRUT (OLBB) ACCORDING TO EASA SAFETY DIRECTIVES ENSURING A ROBUST RISK ASSESSMENT.

E0562/26
ITALIAN AIR CARRIERS AND CAPTAINS OF AIRCRAFT IN CHARGE OF AIR SERVICES OPERATED BY CARRIERS HOLDING AN OPERATING LICENSE ISSUED BY ITALY, WHETHER THEY ARE CONTRACTUAL CARRIERS AND/OR OPERATING CARRIERS, OR PERFORMING AIR SERVICES THROUGH A WET LEASE OR A CODESHARE AGREEMENT AS WELL AS FOR ANY FLIGHT MADE WITH AN AIRCRAFT REGISTERED IN ITALY ARE RECOMMENDED TO AVOID AIRSPACE NORTH KOREA (FIR PYONGYANG ZKKP) DUE TO POTENTIAL RISK FROM BALLISTIC MISSILES

E0561/26
ITALIAN AIR CARRIERS AND CAPTAINS OF AIRCRAFT IN CHARGE OF AIR SERVICES OPERATED BY CARRIERS HOLDING AN OPERATING LICENSE ISSUED BY ITALY, WHETHER THEY ARE CONTRACTUAL CARRIERS AND/OR OPERATING CARRIERS, OR PERFORMING AIR SERVICES THROUGH A WET LEASE OR A CODESHARE AGREEMENT AS WELL AS FOR ANY FLIGHT MADE WITH AN AIRCRAFT REGISTERED IN ITALY WHEN PLANNING FLIGHT OPERATIONS SHALL AVOID OPERATIONS IN AFGHANISTAN FIR (OAKX) BELOW HEIGHT 25000 FEET AGL AND ACCORDING TO EASA SAFETY DIRECTIVES. RMK: AIRWAY P500 G500 NOT AFFECTED.

E0560/26
ITALIAN AIR CARRIERS AND CAPTAINS OF AIRCRAFT IN CHARGE OF AIR SERVICES OPERATED BY CARRIERS HOLDING AN OPERATING LICENSE ISSUED BY ITALY, WHETHER THEY ARE CONTRACTUAL CARRIERS AND/OR OPERATING CARRIERS, OR PERFORMING AIR SERVICES THROUGH A WET LEASE OR A CODESHARE AGREEMENT AS WELL AS FOR ANY FLIGHT MADE WITH AN AIRCRAFT REGISTERED IN ITALY ARE REQUESTED TO AVOID MINSK FIR UMMV. FOREIGN AIR CARRIERS INBOUND EU ARE RECOMMENDED TO AVOID MINSK FIR (UMMV) ACCORDING TO EASA SAFETY DIRECTIVES

E0559/26
ITALIAN AIR CARRIERS AND CAPTAINS OF AIRCRAFT IN CHARGE OF AIR SERVICES OPERATED BY CARRIERS HOLDING AN OPERATING LICENSE ISSUED BY ITALY, WHETHER THEY ARE CONTRACTUAL CARRIERS AND/OR OPERATING CARRIERS, OR PERFORMING AIR SERVICES THROUGH A WET LEASE OR A CODESHARE AGREEMENT AS WELL AS FOR ANY FLIGHT MADE WITH AN AIRCRAFT REGISTERED IN ITALY ARE RECOMMENDED TO AVOID OIIX FIR AND ENSURE THAT A ROBUST RISK ASSESSMENT IS IN PLACE TOGETHER WITH A HIGH LEVEL OF CONTINGENCY PLANNING IN WHOLE MIDDLE EAST ACCORDING TO
EASA SAFETY DIRECTIVES.

E0557/26
ITALIAN AIR CARRIERS AND CAPTAINS OF AIRCRAFT IN CHARGE OF AIR SERVICES OPERATED BY CARRIERS HOLDING AN OPERATING LICENSE ISSUED BY ITALY, WHETHER THEY ARE CONTRACTUAL CARRIERS AND/OR OPERATING CARRIERS, OR PERFORMING AIR SERVICES THROUGH A WET LEASE OR A CODESHARE AGREEMENT AS WELL AS FOR ANY FLIGHT MADE WITH AN AIRCRAFT REGISTERED IN ITALY ARE RECOMMENDED TO AVOID PORTIONS OF DAKAR FIR (GOOO) AND NIAMEY FIR (DRRR) WITHIN TERRITORY AND AIRSPACE OF MALI BELOW HEIGHT 25000FT AGL AND ACCORDING TO EASA SAFETY DIRECTIVES.

E0558/26
ITALIAN AIR CARRIERS AND CAPTAINS OF AIRCRAFT IN CHARGE OF
AIR SERVICES OPERATED BY CARRIERS HOLDING AN OPERATING LICENSE
ISSUED BY ITALY, WHETHER THEY ARE CONTRACTUAL CARRIERS AND/OR
OPERATING CARRIERS, OR PERFORMING AIR SERVICES THROUGH A WET LEASE
OR A CODESHARE AGREEMENT AS WELL AS FOR ANY FLIGHT MADE WITH
AN AIRCRAFT REGISTERED IN ITALY SHALL NOT ENTER UIR KYIV UKBU, FIR
LVIV UKLV, FIR KYIV UKBV, FIR DNIPROPETROVSK UKDV,
FIR SIMFEROPOL UKFV, FIR ODESA UKOV, FIR ROSTOV NA DONU URRV. SAID
OPERATORS AND AIRCRAFT OWNERS SHALL ALSO AVOID FLIGHT OPS WITHIN
BUFFER ZONE EXTENDED OUT 200NM ALONG UKRAINE RUSSIA BORDER. FLIGHT
OPS WITHIN CHISHINAU FIR LUUU SHALL ONLY BE UNDERTAKEN
IN COMPLIANCE WITH AERONAUTICAL PUBLICATIONS
ISSUED BY REPUBLIC OF MOLDOVA. OPERATORS ARE ALSO REMINDED
THAT FLIGHT OPS WITHIN MINSK FIR UMMV ARE PROHIBITED AND
THAT ADDITIONAL RISK ASSESSMENT AND FLIGHT PLANNING DECISIONS
SHALL BE TAKEN BEFORE OPERATING IN FIR UUWV, FIR ULLL, FIR USSV,
FIR UWWW IN ACCORDANCE WITH EASA SAFETY DIRECTIVES

E0556/26
ITALIAN AIR CARRIERS AND CAPTAINS OF AIRCRAFT IN CHARGE OF
AIR SERVICES OPERATED BY CARRIERS HOLDING AN OPERATING LICENSE
ISSUED BY ITALY, WHETHER THEY ARE CONTRACTUAL CARRIERS AND/OR
OPERATING CARRIERS, OR PERFORMING AIR SERVICES THROUGH A WET LEASE
OR A CODESHARE AGREEMENT AS WELL AS FOR ANY FLIGHT MADE
WITH AN AIRCRAFT REGISTERED IN ITALY WHEN PLANNING FLIGHT
OPERATIONS ARE RECOMMENDED TO AVOID DAMASCUS FIR (OSTT)
AT ALL ALTITUDES ACCORDING TO EASA SAFETY DIRECTIVES

E0390/26
OBSTACLE LIGHT UNSERVICEABLE ON OBST (AEOLIC PROPELLER) /
/REGION LIGURIA / DISTRICT SAVONA /
TOWN BORMIDA - NW SAVONA / COORDINATES 441440N0081358E / ELEVATION
AGL 148M/486FT
ELEVATION AMSL 982M/3222FT
NOT PUBLISHED IN AIP

E0284/26
PADOVA SCCAM (ITALIAN AIR FORCE COOR AND CTL SERVICE)
FREQ 123.175MHZ **NOT AVBL** DUE TO TECR
REF AIP ENR 2.1.1.1-19

E0133/26
ADDRESSING OF FLIGHT PLAN MESSAGES:
-FPL AND ASSOCIATED MSG FOR GENERAL AIR TFC DEP FM AN AERODROME
UNDER ENAV S.P.A. (ITALIAN AGENCY FOR AIR NAVIGATION SERVICES)
JURISDICTION IN VFR OR MIXED FLIGHT RULES (Z), SHALL BE ADDRESSED
ONLY TO ARO-CBO ITALY (ATS REPORTING OFFICE WITH CENTRAL BRIEFING
CAPABILITIES) - LIRFZPZX, WHICH WILL BE RESPONSIBLE FOR THEIR
VALIDATION AND DISTRIBUTION TO APPROPRIATE ATS UNIT.
-AFTN ADDRESS LIIRZEZX SHALL BE ADDED TO THE LIST OF RECIPIENTS OF
FPL AND ASSOCIATED MSG FOR VFR OR MIXED FLIGHT RULES (Y OR Z) TFC
PLANNING TO FLY ONLY IN VFR WI ITALIAN FIR.
REMARK:
FPL RELATED TO EACH VFR AND/OR MIXED FLIGHT RULES (Z) STAGE OF A
FLIGHT THROUGH INTERMEDIATE STOPS SHALL BE ADDRESSED SOLELY TO THE
ARO ASSOCIATED TO THE DEPARTURE AERODROME OF THAT STAGE.
REF AIP ENR 1.11-1

E0187/26
THE EQUIPMENT REQUIRED TO OVERFLY THE ITALIAN TERRITORY IN NIGHT VFR SHALL INCLUDE AT LEAST:
- SSR TRANSPONDER MODE A AND C
- ONE RADIO EQUIPMENT TO MAINTAIN TWO-WAY COMMUNICATION WITH ATS UNITS
- ELT(S) OR ELT(A) EQUIPMENT
REF AIP ENR 1.2-5 (PARAGRAPH ENR 1.2.1.6 'NIGHT VFR' POINT G

E0161/26
HLLB/BENGASI **AD**
SHALL BE ADDED TO THE LIST OF **AD** FOR WHICH
SPECIFIC PROVISIONS REGARDING TFC TO/FM LIBYA ARE NOT TO BE APPLIED.
REF AIP GEN 1.2-7 ITEM 1.2.3 'REGULATION ON NON-SCHEDULED AIR SERVICES BETWEEN EU AND THIRD COUNTRIES'
ITEM 1.2.3.1 'SPECIFIC PROVISIONS REGARDING TFC TO/FM LIBYA'

E0088/26
PISA CTR.
PSR/SSR MAINTENANCE CHG:
EVERY MON 0800-1000 (0700-0900), IF VMC ONLY.
REF AIP ENR 2.1.2.35-3

E2763/25
ULTRA LIGHT MACHINE ACTIVITY (ULM) 'CAORLE AREA'
LATERAL LIMITS CHG AS LINE JOINING FLW POINT:
453900N0124605E-4539N0125000E-453523N0124959E-453453N0124029E-453616N0123827E-453741N0123909E-453859N0123601E-454046N0123847E-454016N0124219E
THEN ARC OF CIRCLE IN COUNTERCLOCKWISE **DIRECTION** RADIUS 3.0 NM CENTRED ON 454159N0124549E TILL TO POINT OF ORIGIN.
REF AIP ENR 5.5.4-2
F) SFC G) 500FT AGL

E1428/25
FIREFIGHTING ACTIVITY IS REGULATED AS FLW:
-AIRCRAFT NOT INVOLVED IN FIREFIGHTING OPERATIONS MUST NOT FLY OVER THE FIRE AREA AND MUST EXERCISE EXTREME **CAUTION** WHEN FLYING NEAR IT, CONSIDERING THE POSSIBLE INTERVENTION OF FIREFIGHTING ACFT.
THEREFORE, WHEN AN AERIAL FIREFIGHTING OPERATION IS ANNOUNCED/ACTIVE, IT IS PROHIBITED TO FLY IN THE ZONES IDENTIFIED BY THE FIRE-FIGHTING AUTHORITIES AND NOTIFIED BY THE COMPETENT AUTHORITY OR, IN THE ABSENCE OF SPECIFIC PROVISIONS:
I. WITHIN CONTROLLED AIRSPACE, IN THE ABSENCE OF SPECIFIC COMMUNICATIONS ABOUT THE AREA AFFECTED BY THE FIREFIGHTING OPERATIONS FROM THE ENGAGED ACFT, BELOW 760M (2500FT) AGL WITHIN AN AREA EXTENDING UP TO A HORIZONTAL DISTANCE OF 4KM (2 NM) FROM THE FIRE
II. OUTSIDE CONTROLLED AIRSPACE, BELOW 900M (3000FT) AGL, WITHIN AN AREA EXTENDING UP TO A HORIZONTAL DISTANCE OF 9KM (5NM) FROM THE FIRE.
-TIMELY UPDATES REGARDING THE ZONES AND AREAS AFFECTED CAN BE BROADCAST ON GROUND/AIR/GROUND FREQUENCIES.
PART 1 OF 2

-THE ENGAGED FIREFIGHTING AIRCRAFT KEEP THE ATS UNIT RESPONSIBLE FOR THE AFFECTED AREA INFORMED ABOUT THE FIREFIGHTING OPERATIONS AND THEIR CONCLUSION.
-THE ATS UNIT RESPONSIBLE FOR THE AREA AFFECTED BY THE FIREFIGHTING OPERATIONS PROVIDES AIR TRAFFIC SERVICES, AS FAR AS POSSIBLE:
1.TO THE AIRCRAFT ENGAGED IN FIREFIGHTING OPERATIONS, EXCEPT IN THE FIREFIGHTING AREA WHERE IT PROVIDES ONLY FLIGHT INFORMATION AND ALERT SERVICES.
RMK: IF A CTR IS AFFECTED BY THE FIRE, SID/STAR/INSTR APCH PROC COULD BE TEMPORARILY **SUSPENDED** OR MODIFIED
2.TO OTHER GAT FLIGHTS, BASED ON THE INFORMATION **AVAILABLE** REGARDING THE FIREFIGHTING ACTIVITY, WHICH MAY STILL BE INCOMPLETE.
REF AIP ENR 1.1.1.4 'POLICE, CUSTOMS AND PATROL FLIGHTS ENGAGED IN URGENCY MISSIONS', PARAGRAPH C 'FIREFIGHTING'
PART 2 OF 2

++++++++++++++++++++++++++++ WAYPOINT ++++++++++++++++++++++++++++

E0485/26
TRIGGER NOTAM-PERM AIP AIRAC AMDT 4/26 EFFECTIVE DATE 16 APR 2026
ENR 4.4 NAME-CODE DESIGNATORS FOR SIGNIFICANT POINTS
REVIEW AND IMPLEMENTATION OF THE FOLLOWING POINTS:
-ITCAP
-RUCFO
-GACBE
-ICFEB
-ICHAV
-UDMAC
WITHDRAWAL OF THE FOLLOWING POINTS:
-BARMO
-GIKUT
-PIKOT
-RIVAP
-TIGLO
-VARAP
AIRAC IS POSTED AND **AVBL** ON WEBSITE WWW.ENAV.IT

E0236/26
ITALIAN FREE ROUTE AIRSPACE (FRAIT) RELEVANCE OF UNDERLISTED
NAME-CODE DESIGNATOR OF SIGNIFICANT POINT CHG AS DETAILED:
- GOGEM: ADD FREE ROUTE AIRSPACE RELEVANCE AS EXIT 'X'
REF AIP ENR 4.4-56

++++++++++++++++++++++ RESTRICTED AIRSPACE ++++++++++++++++++++++++

W1121/26
TUE THU 1700-2000
RESTRICTED AREA LI R21A /SARA/ OPR HR EXTD
REF AIP ENR 5.1.2-5
F) FL125 G) FL240
W1122/26
TUE THU 1700-2000
RESTRICTED AREA LI R21B / SARA / OPR HR EXTD.
REF AIP ENR 5.1.2-5
F) FL125 G) FL240
W1126/26
DAILY 0900-SS
TEMPORARY RESTRICTED AREAS IMPLEMENTED AS FLW DUE TO
PARAGLIDING COMPETITION WITHIN NATIONAL FIR BDRY:
- AREA 'GEMONA 1':
463117N0131847E-462350N0132905E-461807N0132158E-
461309N0132321E-461221N0132524E-460530N0133320E-
460952N0130422E-461233N0130247E-461147N0125826E-
461430N0125000E-461348N0124707E-463655N0124644E-
463117N0131847E / ELEV FL100
-AREA 'UDINE - CIVIDALE 2':
460750N0131758E-460402N0131652E-460342N0131251E-
460716N0130550E-460952N0130422E-460750N0131758E
ELEV FL70
-AREA 'CIVIDALE 4':
460750N0131758E-460530N0133320E-460402N0131652E-
460750N0131758E / ELEV 6000FT AMSL
- AREA 'CARNIA 3':
463655N0124644E-461348N0124707E-461100N0123533E-
463341N0123132E-463655N0124644E / ELEV FL100
- AREA 'MEDUNO 4':
461233N0130247E-460952N0130422E-460716N0130550E-
460342N0131251E-460926N0123553E-461100N0123533E-
461348N0124707E-461430N0125000E-461147N0125826E-
461233N0130247E / ELEV FL100
/ VENETO AND FRIULI REGIONS /
RMK: ACT SUBJ COOR WITH AVIANO APP/PADOVA ACC
F) GND G) FL100
W1164/26
DAILY 0900-SS
RESTRICTED AREA 'LI R49/B - ZITA' LOWER LIMIT RAISED TO FL110
DUE TO ACT ANNOUNCED BY NOTAM W1126/26
REF AIP ENR 5.1.2-11
F) FL050 G) FL110

W1056/26
20-23 27-30 0600-2000
MIL AIR EXER WILL TAKE PLACE WI FLW AREAS:
AREA 'BUDOIA': 455806N0124045E-455151N0122929E-455656N0122033E-
460706N0123300E-460645N0123651E THEN ARC OF CIRCLE IN CLOCKWISE
DIRECTION RADIUS 5NM CENTRED ON 460148N0123556E TILL POINT
455806N0124045E /NW PORDENONE/
AREA 'SPILIMBERGO':
460000N0125000E-461010N0125000E-461232N0130249E-
460804N0130518E-460000N0125000E /NNE PORDENONE/
RMK: ACT SUBJ APPROVAL BY AND CONS RDO CTC WITH AVIANO APP
F) 1000FT AGL G) FL130

W1082/26
DAILY 0600-1600 EXC 24
CIV UNMANNED ACFT ACTIVITY WILL TAKE PLACE WI 270M RADIUS OF
440417N0095433E/LERICI- SE LA SPEZIA/ELEV 50M AGL
RMK: ACT SUBJ PRIOR COOR WITH MILANO SCCAM (ITALIAN AIR FORCE
COORDINATION AND CONTROL SERVICE)
F) GND G) 50M AGL

E0483/26
TRIGGER NOTAM-PERM AIP AIRAC AMDT 4/26 EFFECTIVE DATE 16 APR 2026
ENR 5.5.1 'PARACHUTING ACTIVITY'
UPDATE OF REMARKS OF ZONE 'ACQUI TERME - CIV'
AIRAC IS POSTED AND **AVBL** ON WEBSITE WWW.ENAV.IT
F) SFC G) FL080

E0491/26
TRIGGER NOTAM-AIRAC SUP S23/26 IN FORCE FM 16 APR TO 31 DEC 2026
TEMPORARY NAVIGATION WARNING
NATURE OF ACTIVITY:
CIVIL UNMANNED ACFT ACTIVITY
SUP IS POSTED AND **AVBL** ON WEBSITE WWW.ENAV.IT
F) SFC G) 50M AGL

W1134/26
MON-FRI 0530-0700 0830-1000 1300-1430
TEMPORARY RESTRICTED AREA IMPLEMENTED AS FOLLOW:
455408N0133620E-455413N0133523E-455427N0133530E-
455429N0133532E-455444N0133554E-455442N0133614E-
455439N0133628E-455438N0133628E-455434N0133639E-
455411N0133633E-455412N0133621E-455408N0133620E
/GORIZIA AD-LIPG/ ELEV 227FT AGL DUE TO UNMANNED ACFT ACTIVITY
F) GND G) 227FT AGL

W1038/26
15 16 22 29 30 0500-1600
MILITARY FIRING AREA / PONTICELLO - NE BOLZANO/ **ACTIVATED** WITH
UPPER LIMIT LOWERED AT 7000FT AMSL
REF AIP ENR 5.2.1.2-2
F) SFC G) 7000FT AMSL

W1113/26
DAILY SR-SS
TEMPORARY RESTRICTED AREA IMPLEMENTED AS FLW:
433627N0105714E-434132N0105237E-434221N0105455E-
433748N0105928E-433702N0105936E-433614N0105959E-
433502N0110204E-433350N0110137E-433327N0110032E-
433508N0105703E-433627N0105714E /CASTELFIORENTINO - SW FIRENZE/
ELEV 525FT AMSL DUE TO CIV UNMANNED ACFT ACTIVITY
F) GND G) 525FT AMSL

W1003/26
MON-FRI 0700-2300
MILITARY FIRING AREA /CARPEGNA-SSW S.MARINO/ **ACTIVATED**
REF AIP ENR 5.2.1.2-1
F) SFC G) 6300FT AMSL

W0846/26
13 14 20 21 27 0500-2030
MILITARY FIRING AREA /MONTE SERVA NORD-N BELLUNO/ ACT
REF AIP ENR 5.2.1.2-2
F) SFC G) 5100FT AMSL

W1042/26
SR-SS
MIL UNMANNED ACFT ACTIVITY WILL TAKE PLACE WI AREA 1.5NM RADIUS OF
445447N0094324E /LIMS-PIACENZA AD/
F) GND G) 1000FT AGL

W0854/26
09 16 21-23 29 0600-2000
MILITARY FIRING AREA /TAVERNETTE-WSW TORINO/ ACT
REF AIP ENR 5.2.1.1-2
F) SFC G) 8400FT AMSL

W0967/26
MIL UNMANNED ACFT ACT WILL TAKE PLACE WI AREA NAMED 'DEL DIN'
BOUNDED BY LINE JOINING FLW POINTS:
453400N0113144E-453359N0113139E-453413N0113124E-
453423N0113124E-453421N0113133E-453427N0113134E-
453437N0113139E-453453N0113144E-453453N0113147E-
453450N0113152E-453452N0113156E-453443N0113200E-
453405N0113200E-453400N0113155E-453400N0113144E
(VICENZA TOWN)
F) GND G) 500FT AGL

W0962/26
WED-THU 0600-1100 1200-1600 2000-2300
MILITARY FIRING AREA /RIVOLI BIANCHI VENZONE-N UDINE/ ACT
REF AIP ENR 5.2.1.2-2
F) SFC G) 8645FT AMSL

W1000/26 VALID: 08-APR-26 0600 - 22-APR-26 1600
DAILY 0600-1600
CIV UNMANNED ACFT ACTIVITY WILL TAKE PLACE WI 250M RADIUS OF
454908N0065725E /COURMAYEUR-NW AOSTA/ ELEV 120M AGL
F) GND G) 120M AGL

W0979/26
TEMPORARY RESTRICTED AREA IMPLEMENTED AS FLW:
455121N0122330E-455135N0122342E-455128N0122358E-
455114N0122346E-455121N0122330E
/VAZZOLA - NNE TREVISO/ ELEV 56M AGL
DUE TO CIV UNMANNED ACFT ACTIVITY
RMK: ACT SUBJ PRIOR COOR AND APPROVAL BY AVIANO APP
F) GND G) 56M AGL

W0964/26
TUE-FRI 0600-2030
MILITARY FIRING AREA /CLOU NEF - W AOSTA/ ACT
REF AIP ENR 5.2.1.1-1
F) SFC G) 6200FT AMSL

W1019/26
DAILY 0500-1330
TEMPORARY RESTRICTED AREA IMPLEMENTED AS FLW:
434940N0103621E-434932N0103632E-434917N0103628E
434920N0103553E-434937N0103604E-434940N0103621E /PORCARI-E LUCCA /
ELEV 60M AGL DUE TO CIV UNMANNED ACFT ACTIVITY
RMK: ACT SUBJ PRIOR COOR AND APPROVAL BY LUCCA AFIU (AERODROME
FLIGHT INFORMATION UNIT)
F) GND G) 60M AGL

W0949/26
THU FRI 0600-2100 EXC APR 30 MAY 01
MILITARY FIRING AREA /MALGA VACCARO-N BOLZANO/ **ACTIVATED**
WITH UPPER LIMIT RAISED TO 9500FT AMSL
REF AIP ENR 5.2.1.2-1
F) SFC G) 9500FT AMSL

W0907/26
MON-THU 0700-1400, FRI 0700-1000 EXC APR 06
MIL PJE WILL TAKE PLACE WI AREA 3NM RADIUS OF
440520N0095920E /SARZANA **AD** (LIQW)/
RMK: ACT SUBJ APPROVAL BY AND CONS RDO CTC WITH
SARZANA TWR AND MILANO ACC
F) GND G) FL130

W0836/26
01 02 07-09 13-17 20-24 28-30 0600-2100
MILITARY FIRING AREA / CAO MALNISIO - NNW PORDENONE / ACT
REF AIP ENR 5.2.1.2-1
F) SFC G) 3971FT AMSL

W0839/26
WED 0600-2100
MILITARY FIRING AREA /MONRUPINO-N TRIESTE/ ACT
REF AIP ENR 5.2.1.2-1
F) SFC G) 3500FT AMSL

W0848/26
01 08 09 14 15 16 21 22 23 28 29 30 0600-2100
MILITARY FIRING AREA / CELLINA MEDUNA - NE PORDENONE / ACT
REF AIP ENR 5.2.1.2-1
F) SFC G) 4500FT AMSL

W0849/26
01 07 08 14 15 21 22 28 29 0600-1600, 02 09 16 23 30 0600-2200
MILITARY FIRING AREA (CANDELO MASAZZA-NW VERCELLI) **ACTIVATED**
REF AIP ENR 5.2.1.1-1
F) SFC G) 1500FT AGL

W0853/26
WED THU 0600-1100 1200-1600 1700-2200,, 14 21 27 28 0600-1100
1200-1600
MILITARY FIRING AREA /RIVOLI BIANCHI TOLMEZZO-N UDINE/ **ACTIVATED**
REF AIP ENR 5.2.1.2-2
F) SFC G) 8891FT AMSL

W0909/26
MON-FRI 0600-2159 EXC APR 06 MAY 01
MIL UNMANNED ACFT ACT, FIRING ACT AND MIL PJE WILL TAKE PLACE WI
AREA 1.5NM
RADIUS OF 440327N0094937E /MUZZERONE-S LA SPEZIA/
RMK: MIL PJE SUBJ APPROVAL BY AND CONS RDO CTC WITH
MILANO SCCAM (ITALIAN AIR FORCE COOR AND CTL SER)
F) SFC G) FL060

W0970/26
01 02 07 09 10 13 16 17 20 23 24 27 30 0600-1630, 08 14 15 21 22
28 29 0600-2000
MILITARY FIRING AREA /CAVE DOBBIACO-N BELLUNO/ ACT
REF AIP ENR 5.2.1.2-1
F) SFC G) 7000FT AMSL

W0845/26
WED-THU 0500-2030
MILITARY FIRING AREA / VAL D'OTEN - N BELLUNO / ACT
REF AIP ENR 5.2.1.2-2
F) SFC G) 10700FT AMSL

W0906/26
RESTRICTED AREA LI R313 / ROVERE' DELLA LUNA - N TRENTO/ ACT
MON WED-FRI SR-SS, TUE SR-SS PLUS120
RIF AIP ENR 5.1.2-33
F) GND G) 2500FT AMSL

W0922/26
MIL UNMANNED ACFT ACT WILL TAKE PLACE WI FLW AREAS:
- AREA 1:
LINE JOINING POINTS:
460134N0123354E-460339N0123553E-460144N0123751E-
460059N0123635E-460035N0123454E-460134N0123354E
/AVIANO **AD** (LIPA)/
- AREA 2:
LINE JOINING POINTS:
460345N0123442E-460413N0123512E-460428N0123441E-
460405N0123417E-460345N0123442E
/AVIANO - NNW PORDENONE/
F) GND G) 150FT AGL

W0974/26
TEMPORARY RESERVED AREA IMPLEMENTED DUE TO MIL UNMANNED ACFT WI
2.1NM RADIUS OF 434723N0103800E /ALTOPASCIO-NE PISA/
RMK: ACT SUBJ RDO CTC WITH 'LUCCA **AD** FLT INFO UNIT (AFIU) ON FREQ
122.505MHZ
F) GND G) 974FT AMSL

W0985/26
DAILY 1800-0500
TEMPORARY RESTRICTED AREA IMPLEMENTED WI 350M RADIUS OF
453037N0091109E /NORTH OF MILANO/ ELEV 63M AGL
DUE TO CIV UNMANNED ACFT ACTIVITY.
F) GND G) 63M AGL

W0920/26
MON-FRI 0700-1500
TEMPORARY AIRSPACE RESERVATION **ACTIVE** WI AREA 1NM
RADIUS OF 440530N0095200E /LA SPEZIA GULF/ DUE TO CAPTIVE BALLOON
F) SFC G) 2000FT AMSL

W0921/26
MON-FRI 0700-1500
TEMPORARY AIRSPACE RESERVATION **ACTIVE** WI AREA 1NM
RADIUS OF 440530N0094950E /LA SPEZIA GULF/ DUE TO CAPTIVE BALLOON
F) SFC G) 2000FT AMSL

W0742/26
DAILY 0900-1600
ASCENT OF LIGHT FREE BALLOONS WILL TAKE PLACE
WI 54NM RADIUS OF 454758N0110408E /TRENTO/ ELEV UNL
CHARACTERISTICS:
1- COLOUR WHITE
2- WEIGHT MAX 2.6KG
3-DIAMETER 2M
4- CATEGORY ICAO LIGHT
F) GND G) UNL

W0344/26
MON-FRI 0700-1000
AEROBATIC TRAINING AREA / LIGNANO/ **ACTIVATED**.
REF AIP ENR 5.5.2-7
F) SFC G) 4500FT AGL

W0715/26
MON-THU 0600-1400, FRI 0600-1000
CIV UNMANNED ACFT ACTIVITY WILL TAKE PLACE WI 250M RADIUS OF
440442N0095804E /AMEGLIA-SE LA SPEZIA/ELEV 25M AGL
RMK: ACT SUBJ PRIOR COOR WITH SARZANA TWR AND MILANO SCCAM
(ITALIAN AIR FORCE COORDINATION AND CONTROL SERVICE)
F) GND G) 25M AGL

W0714/26
CIV UNMANNED AIRCRAFT ACTIVITY WILL TAKE PLACE WI 500M RADIUS OF:
POINT 1: 440603N0095127E /LA SPEZIA/
POINT 2: 440657N0094417E /RIOMAGGIORE - W LA SPEZIA/
POINT 3: 440624N0094342E /MANAROLA - WNW LA SPEZIA/
POINT 4: 440806N0094058E /VERNAZZA - NW LA SPEZIA/
ELEVATION 60M AGL
REMARK: ACT SUBJECTED PRIOR COORDINATION WITH MILANO SCCAM
(ITALIAN AIR FORCE COORDINATION AND CONTROL SERVICE)
F) GND G) 60M AGL

W0803/26
TUE-THU 0630-2200 EXC APR 06 MAY 01
MIL UNMANNED ACFT ACT WILL TAKE PLACE WI AREA NAMED 'DEL DIN'
BOUNDED BY LINE JOINING FLW POINTS:
453453N0113144E-453453N0113147E-453450N0113152E-
453400N0113155E-453400N0113144E-453359N0113139E-
453413N0113124E-453419N0113130E-453423N0113130E-
453421N0113133E-453427N0113134E-453437N0113139E-
453453N0113144E /N VICENZA/
F) GND G) 250FT AGL

E0627/26
LI TSA78/B - ALTO ADRIATICO
ADDN RMK:
SUPERSONIC FLIGHT IS PROHIBITED NORTH OF LINE JOINING FOLLOWING
POINTS:
461811N0131452E - 461900N0131400E - 455251N0115143E
REF AIP ENR 5.1.4-12 'TEMPORARY SEGREGATED AREAS'
F) FL370 G) FL600

E0628/26
LI-TSA 78/A - ALTO ADRIATICO
TYPE OF ACTIVITY:
MILITARY AIR ACTIVITY
REF AIP ENR 5.1.4-11 'TEMPORARY SEGREGATED AREAS'
F) FL370 G) FL600

E0626/26
LI TSA72 - ALBENGA
ADDN RMK:
SUPERSONIC FLIGHT IS PROHIBITED WEST OF LINE JOINING FOLLOWING
POINTS:
441000N0074100E - 444500N0071500E - 444926N0071705E.
REF AIP ENR 5.1.4-9 'TEMPORARY SEGREGATED AREAS'
F) FL380 G) UNL

E0369/26
ULTRA LIGHT MACHINE ACTIVITY AREA 'SAN GIULIANO TERME AREA (NNE
PISA)' COMPLETELY **WITHDRAWN**
REF AIP ENR 5.5.4-7 'ULTRA LIGHT MACHINE ACTIVITY (ULM)'
F) GND G) 900FT AGL

W0748/26
MAR 16-28 0730-2000,, MAR 29-JUN 12 0630-1900
CIV UNMANNED ACFT ACTIVITY WILL TAKE PLACE WI AS FLW:
440537N0095111E-440548N0095156E-440543N0095158E-
440538N0095148E-440521N0095156E-440513N0095122E-
440537N0095111E /LA SPEZIA/ ELEV 120M AGL
RMK: ACT SUBJ PRIOR COOR WITH MILANO SCCAM (ITALIAN AIR FORCE
COORDINATION AND CONTROL SERVICE)
F) GND G) 120M AGL

W0747/26
TEMPORARY RESTRICTED AREA IMPLEMENTED AS FOLLOW:
454305N0082911E-454312N0082917E-454309N0082926E-
454302N0082920E-454305N0082911E
/GATTICO-N NOVARA/ ELEV 26M AGL
DUE TO CIV UNMANNED ACFT ACTIVITY
F) GND G) 26M AGL

W0622/26
MAR 11-28 0700-1700, MAR 29-JUN 08 0600-1600
ASCENT OF FREE BALLOONS WILL TAKE PLACE WI AREA 3NM RADIUS OF
452026N0080726E / TRONZANO VERCELLESE - WNW VERCELLI / ELEV UNL
BALLOONS CHARACTERISTICS:
1-COLOUR WHITE
2-CATEGORY LIGHT
3-WEIGHT: MAX 4KG
F) GND G) UNL

W0699/26
TEMPORARY RESTRICTED AREA IMPLEMENTED AS FLW:
454635N0090418E-454646N0090409E-454651N0090424E-
454645N0090429E-454638N0090427E-454635N0090418E / COMO TOWN/ ELEV
25M AGL DUE TO CIV UNMANNED ACFT ACTIVITY
F) GND G) 25M AGL

W0641/26
MAR 09-28 1330-1730,, MAR 29-MAY 29 1230-1630
CIV UNMANNED ACFT ACTIVITY WILL TAKE PLACE WI 0.09KM RADIUS OF
440729N0095036E /LA SPEZIA/ ELEV 40M AGL
RMK: ACT SUBJ PRIOR COOR WITH MILANO SCCAM (ITALIAN AIR FORCE
COORDINATION AND CONTROL SERVICE)
F) GND G) 40M AGL

W0627/26
TEMPORARY RESTRICTED AREA IMPLEMENTED AS FOLLOW:
441537N0120415E-441547N0120423E-441553N0120428E-
441542N0120453E-441527N0120442E-441537N0120415E
/ FORLI' TOWN / ELEV 45M AGL
DUE TO CIV UNMANNED ACFT ACTIVITY
F) GND G) 45M AGL

W0584/26
DAILY SR MINUS30-SS PLUS30
CIV UNMANNED ACFT ACT WILL TAKE PLACE WI FLW AREA:
440327N0095059E-440207N0095238E-440233N0095350E
440421N0095254E-440413N0095121E-440346N0095047E
440327N0095059E /SE LA SPEZIA/ ELEV 393FT AMSL
RMK: ACT SUBJ PRIOR COOR WITH MILANO SCCAM (ITALIAN AIR FORCE
COORDINATION AND CONTROL SERVICE)
F) SFC G) 393FT AMSL

W0528/26
DAILY 0700-1800
MIL UNMANNED ACFT ACT WILL TAKE PLACE WI 1.5NM RADIUS OF
440529N0094948E /LA SPEZIA GULF/
F) SFC G) 2500FT AMSL

W0481/26
MON-FRI SR-SS
TEMPORARY RESTRICTED AREA IMPLEMENTED AS FLW:
460808N0124136E-460648N0124240E-460637N0124200E
460749N0124106E-460751N0124115E-460802N0124114E
460808N0124136E /MANIAGO-N PORDENONE / ELEV 1000FT AGL
DUE TO CIV UNMANNED ACFT ACTIVITY
RMK: ACT SUBJ PRIOR COOR AND APPROVAL BY AVIANO APP
F) GND G) 1000FT AGL

W0360/26
CIV UNMANNED ACFT ACT WILL TAKE PLACE WI FLW AREA:
453758N0091037E-453759N0091149E-453727N0091149E-
453728N0091044E-453758N0091037E (DESIO-NW MONZA) ELEV 60M AGL
F) GND G) 60M AGL

W0511/26
FEB 21-MAR 28 0800-1800, MAR 29-MAY 20 0700-1700
CIV UNMANNED ACFT ACTIVITY IMPLEMENTED AS FOLLOW:
443234N0105207E-443232N0105216E-443222N0105214E
443224N0105202E-443234N0105207E
/MARANELLO-WSW MODENA/ ELEV 328FT AGL
F) GND G) 328FT AGL

W0453/26
CIV UNMANNED ACFT ACTIVITY WILL TAKE PLACE WI FOLLOWING AREA:
453941N0083049E-453948N0083241E-453843N0083248E
453839N0083100E-453941N0083049E (BOGOGNO-N NOVARA) ELEV 45M AGL F)
GND G) 45M AGL

W0156/26
FEB 10-MAR 24 0500-2300, MAR 25-MAY 10 0400-2200
TEMPORARY RESTRICTED AREA IMPLEMENTED AS FLW:
434349N0102212E-434401N0102457E-434247N0102435E-
434226N0102211E-434349N0102212E / PISA TOWN / ELEV 25M AGL
DUE TO CIV UNMANNED ACFT ACTIVITY
RMK: ACT SUBJ PRIOR COOR AND APPROVAL BY PISA TWR.
F) GND G) 25M AGL

W0332/26
ASCENT OF FREE BALLOONS WILL TAKE PLACE WI FLW AREA:
432037N0103249E-431455N0105450E-430419N0104248E-
430650N0103340E-431723N0103438E-432037N0103249E
/GUARDISTALLO-MONTEVERDI MARITTIMO-SE LIVORNO/ELEV 130000FT AGL
BALLOONS CHARACTERISTICS:
1-COLOUR: WHITE
2-DIAMETER: 1.8M
3-WEIGHT 4KG MAX
4-CATEGORY LIGHT
F) GND G) UNL

W0178/26
MIL UNMANNED ACT WILL TAKE PLACE WI 0.25NM RADIUS OF
452847N0113609E /LONGARE - SE VICENZA/
F) GND G) 500FT AGL

W0179/26
MIL UNMANNED ACT WILL TAKE PLACE WI FLW AREA NAMED 'EDERLE':
453243N0113508E THEN ARC OF CIRCLE IN CLOCKWISE **DIRECTION**
0.25NM RADIUS CENTRED ON 453233N0113456E TILL POINT
453240N0113436E THEN ARC OF CIRCLE IN CLOCKWISE **DIRECTION**
0.5NM RADIUS CENTRED ON 453309N0113447E TILL POINT 453243N0113508E
/ESE VICENZA/
F) GND G) 500FT AGL

E2779/25
NEW PROHIBITED AREA IMPLEMENTED WITH FOLLOWING
CHARACTERISTICS:
- IDENTIFICATION LI P735
NAME: SAN DONA' DI PIAVE A
- LATERAL LIMITS: LINE JOINING POINT
453813N0123624E-453816N0123631E-
453811N0123637E-453808N0123630E-453813N0123624E
- UPPER LIMIT/LOWER LIMIT: GND/1500FT AGL
REMARKS: VFR AND UAS AIR TRAFFIC PROHIBITED
REF AIP ENR 5.1.1-1 'PROHIBITED AREAS'
F) SFC G) 1500FT AGL

E2769/25
NEW PROHIBITED AREA IMPLEMENTED WITH FOLLOWING CHARACTERISTICS:
- IDENTIFICATION LI P736
NAME: SAN DONA' DI PIAVE B
LATERAL LIMITS: LINE JOINING POINT
453732N0123819E-453729N0123829E-
453713N0123823E-453717N0123810E-453732N0123819E
UPPER LIMIT/LOWER LIMIT: GND/1500FT AGL
TYPE OF ACTIVITY: PROTECTED BUILDINGS OVERFLYING INTERDICTION
REMARKS: VFR AND UAS AIR TRAFFIC PROHIBITED
REF AIP ENR 5.1.1-1 'PROHIBITED AREAS'
F) SFC G) 1500FT AGL

++++++++++++++++++++++++++++++ ROUTE ++++++++++++++++++++++++++++++

E0481/26
TRIGGER NOTAM-PERM AIP AIRAC AMDT 4/26 EFFECTIVE DATE 16 APR 2026
ENR 3.2 AREA NAVIGATION ROUTES
REVIEW OF THE FOLLOWING ATS ROUTES:
-M729
-M730
-M858
-M859
-M985
-Q713
-T772
-Y15
AIRAC IS POSTED AND **AVBL** ON WEBSITE WWW.ENAV.IT

==========
EXTENDED AREA AROUND DESTINATION ALTERNATE AIRPORT(S)
==========

LIMM MILAN FIR/UIR

Please see section EXTENDED AREA AROUND DESTINATION

==========
AREA ENROUTE DEPARTURE - DESTINATION
==========

LIMM MILAN FIR/UIR

Please see section EXTENDED AREA AROUND DESTINATION

[Company NOTAM]

==========

CREW ALERT

==========

SB007/14

SUBJECT: AUTO COST INDEXES
WHEN PLANNING A COST INDEX, 2 OPTIONS ARE AVAILABLE. PILOTS MAY EITHER SELECT A SPECIFIC COST INDEX NUMBER FROM THE LIST, OR THEY MAY SELECT "AUTO". WHEN PLANNING AN "AUTO" COST INDEX, THE SYSTEM WILL REFERENCE THE SCHEDULED "TIME ENROUTE" OPTION AND ATTEMPT TO CHOOSE A COST INDEX WHICH CLOSELY MATCHES THIS VALUE. NOTE THAT THE "TIME ENROUTE" OPTION IS MEANT AS A GATE TO GATE TIME (AS INDICATED ON AN AIRLINE'S FLIGHT SCHEDULE, FOR EXAMPLE). IF A "TIME ENROUTE" OF 2:30 IS SELECTED, THE SYSTEM WILL SUBTRACT THE TAXI TIMES FROM THIS VALUE TO DETERMINE THE SCHEDULED AIR TIME. IT WILL THEN DETERMINE AND USE THE COST INDEX WHICH MATCHES THIS AIR TIME.

SB003/13

SUBJECT: FLIGHT RELEASE UNITS
ALL FLIGHT CREW: PLEASE PAY SPECIAL ATTENTION TO THE UNITS SELECTION WHEN GENERATING A FLIGHT PLAN. FAILURE TO IDENTIFY THE CORRECT UNITS WHEN REFUELING PRIOR TO FLIGHT CAN RESULT IN DEPARTING WITH INSUFFICIENT FUEL AND/OR AN ERRONEOUS PAYLOAD.

==========

CREW BULLETIN

==========

NIL

========== END OF LIDO-NOTAM-BULLETIN ==========

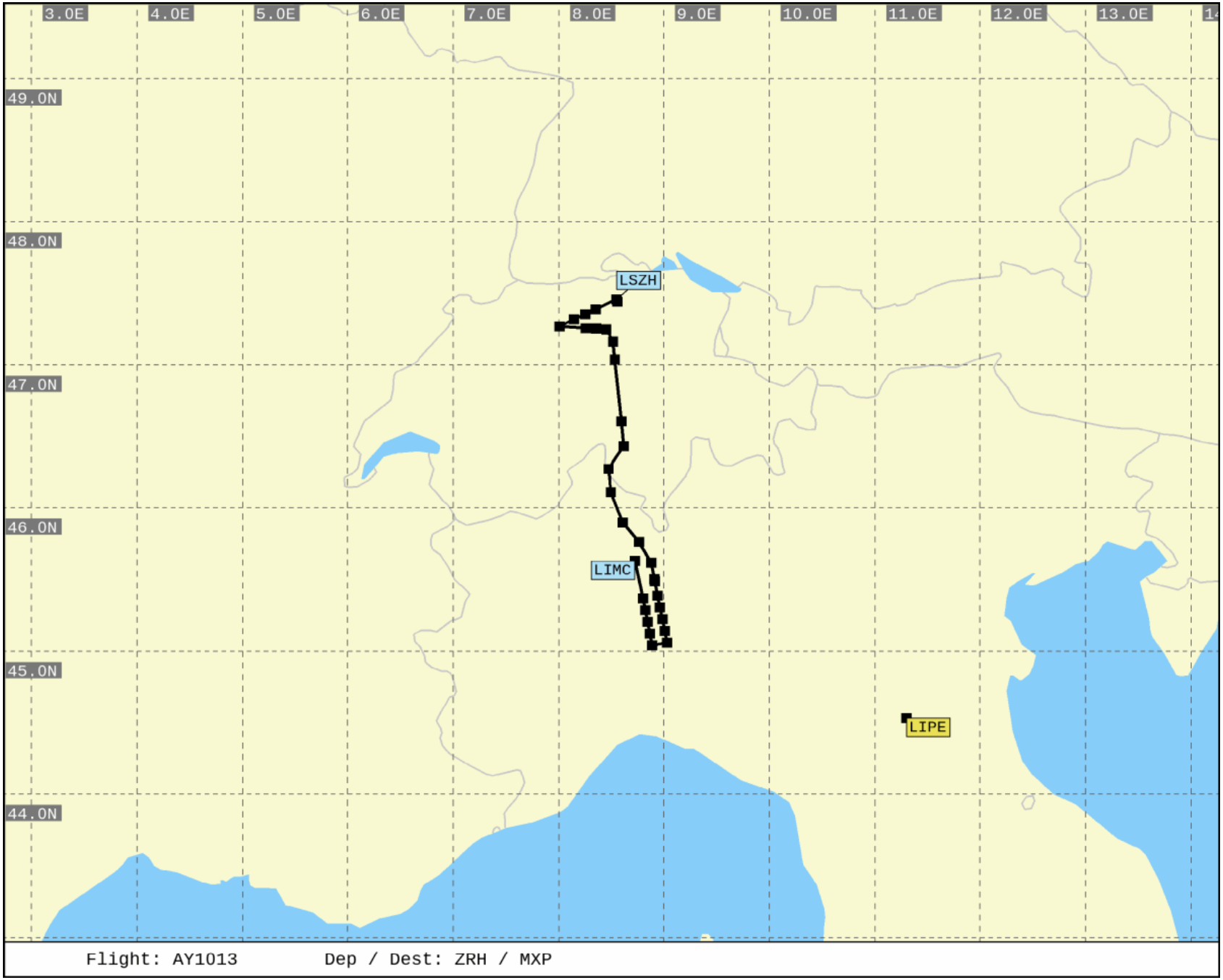
3.0E
4.0E
5.0E
6.0E
7.0E
8.0E
9.0E
10.0E
11.0E
12.0E
13.0E
49.0N
48.0N
47.0N
46.0N
45.0N
44.0N
LSZH
LIMC
LIPE
Flight: AY1013
Dep / Dest: ZRH / MXP

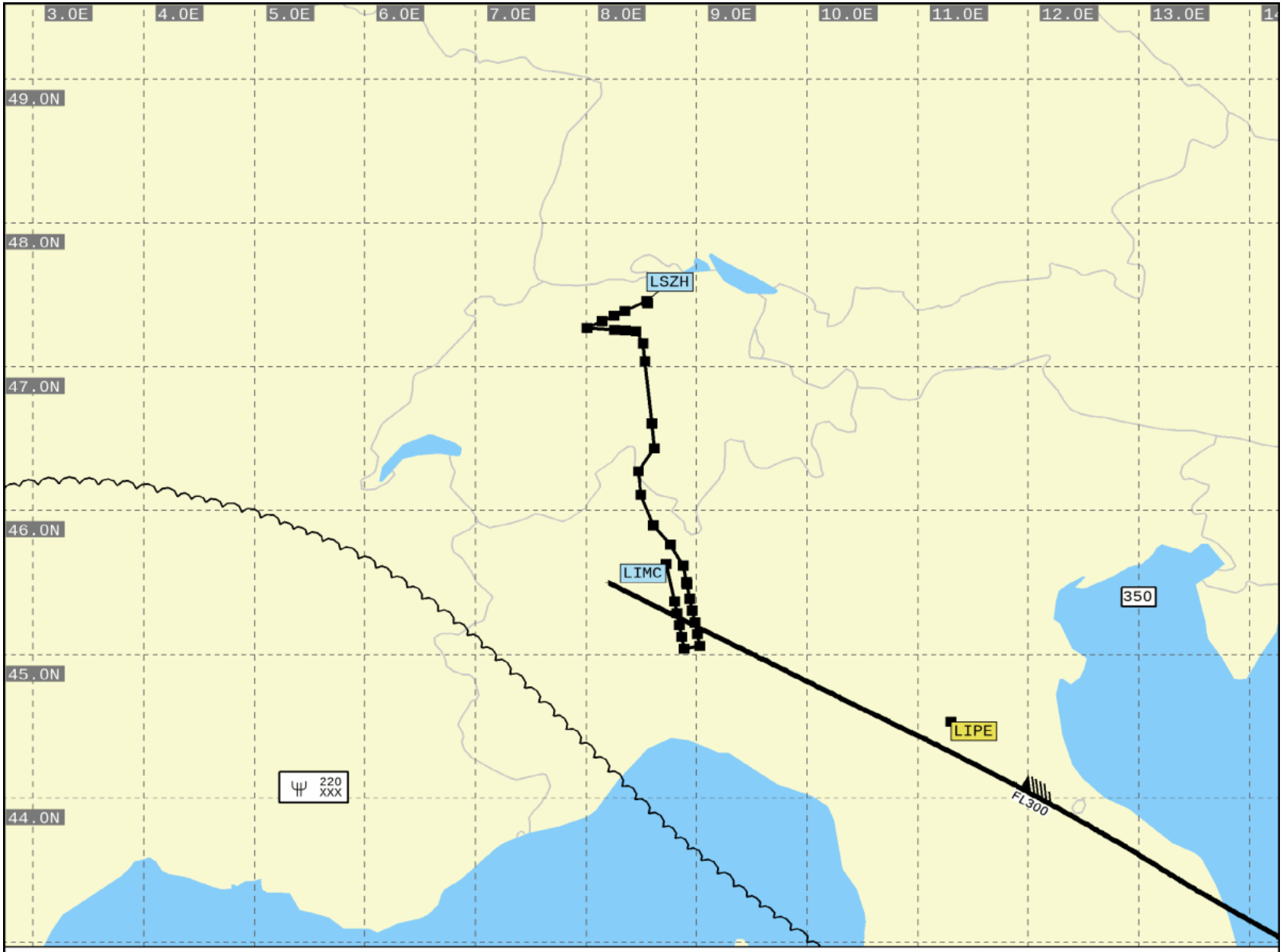

SIG WX FL 100-450 WASHINGTON
VALID 18 UTC ON 22.Apr.2026

Flight: AY1013 Dep / Dest: ZRH / MXP

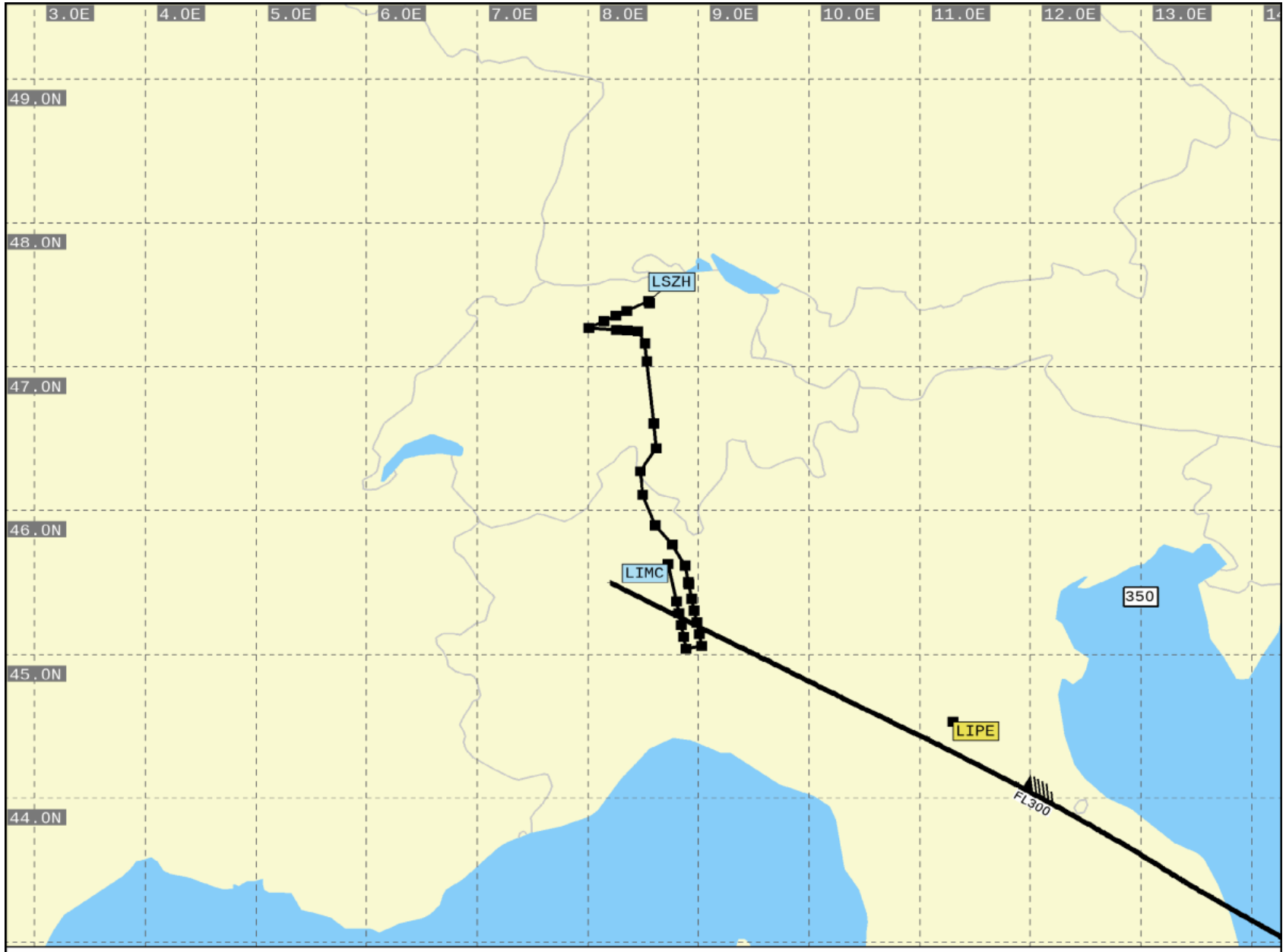

SIG WX FL 250-630 WASHINGTON
VALID 18 UTC ON 22.Apr.2026

Flight: AY1013 Dep / Dest: ZRH / MXP

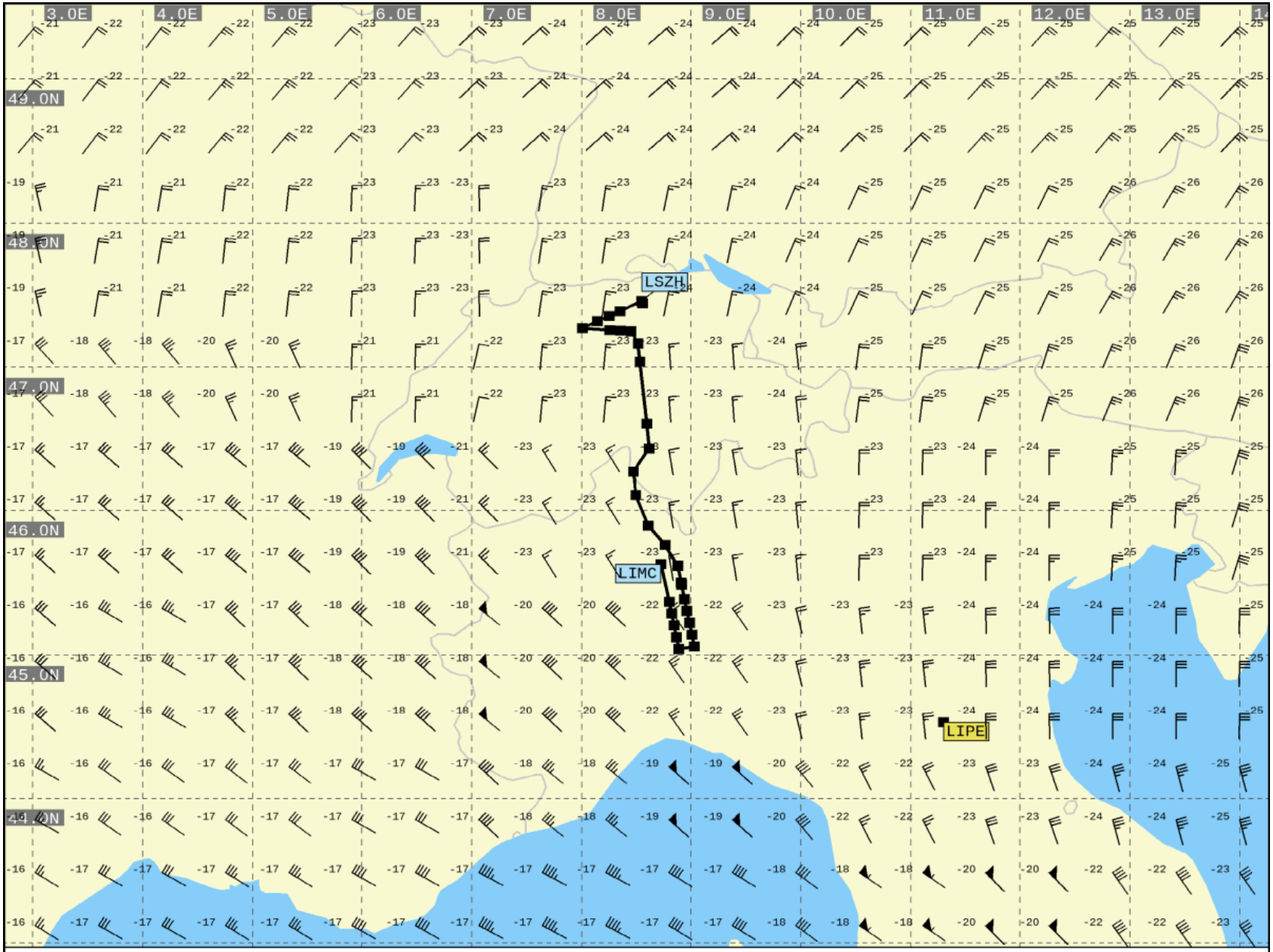

UAD VALID 18 UTC ON 22.Apr.2026 06h FL 180

Flight: AY1013 Dep / Dest: ZRH / MXP

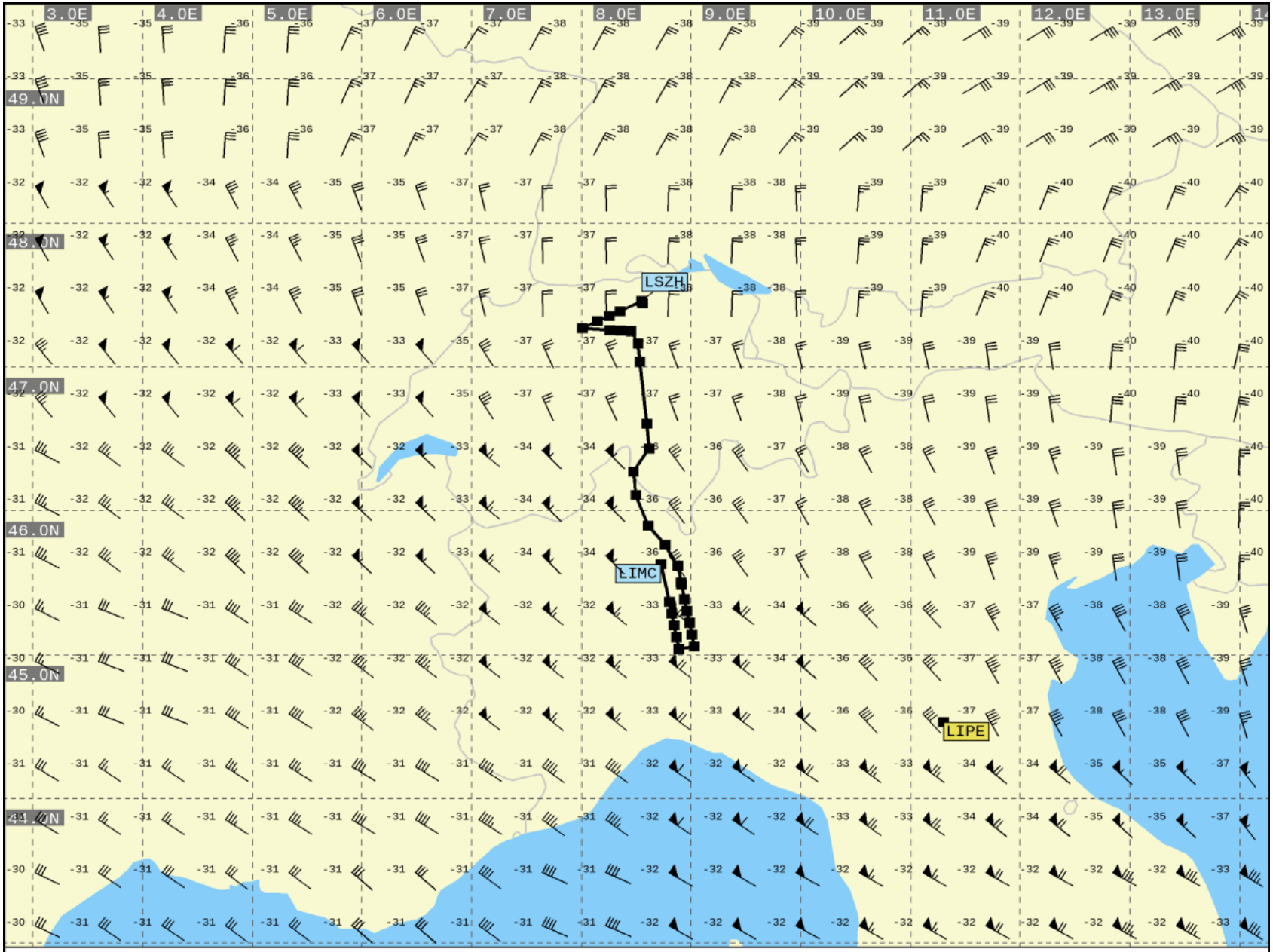

UAD VALID 18 UTC ON 22.Apr.2026 06h FL 240

Flight: AY1013 Dep / Dest: ZRH / MXP

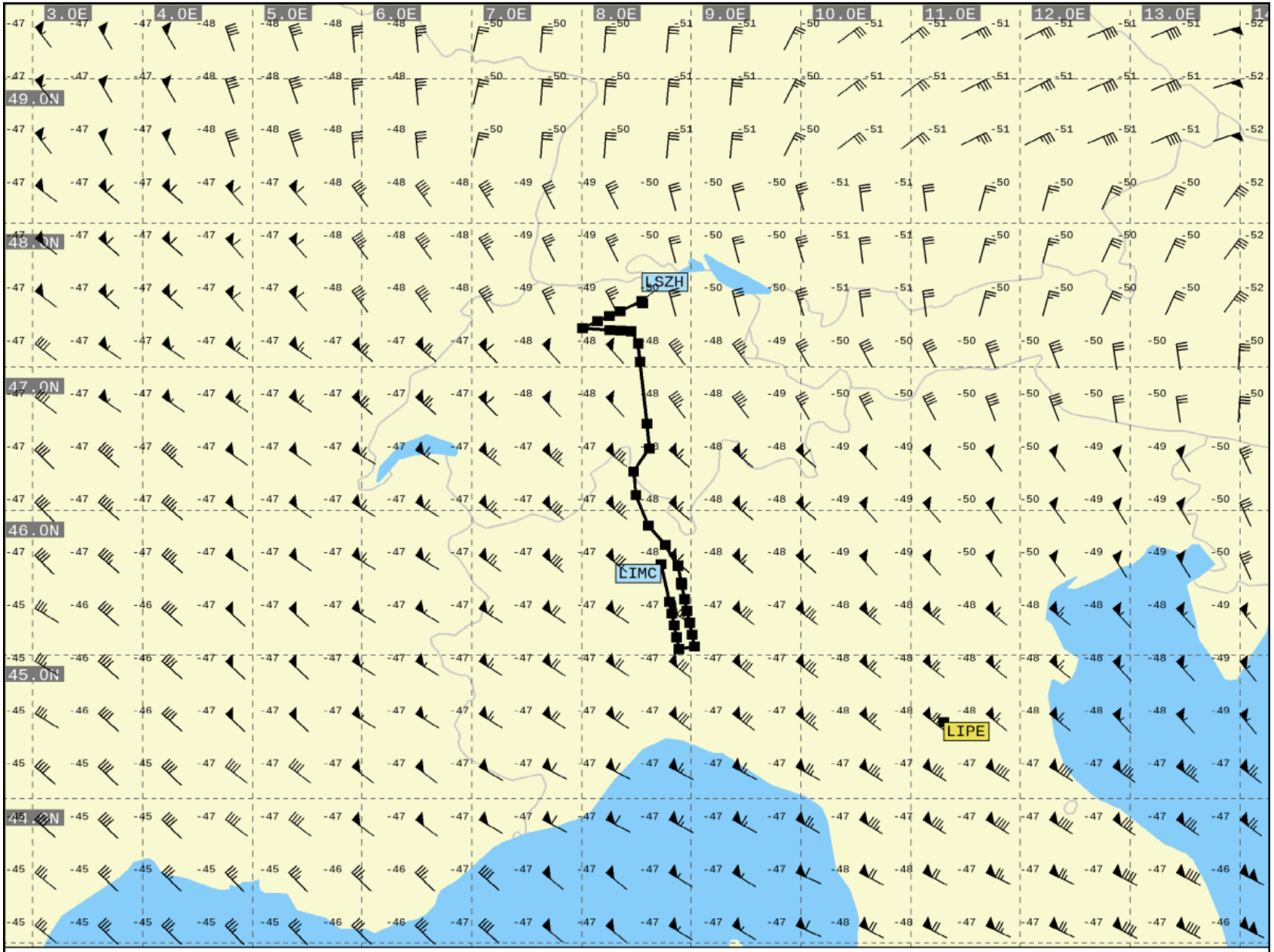

UAD VALID 18 UTC ON 22.Apr.2026 06h FL 300

Flight: AY1013 Dep / Dest: ZRH / MXP

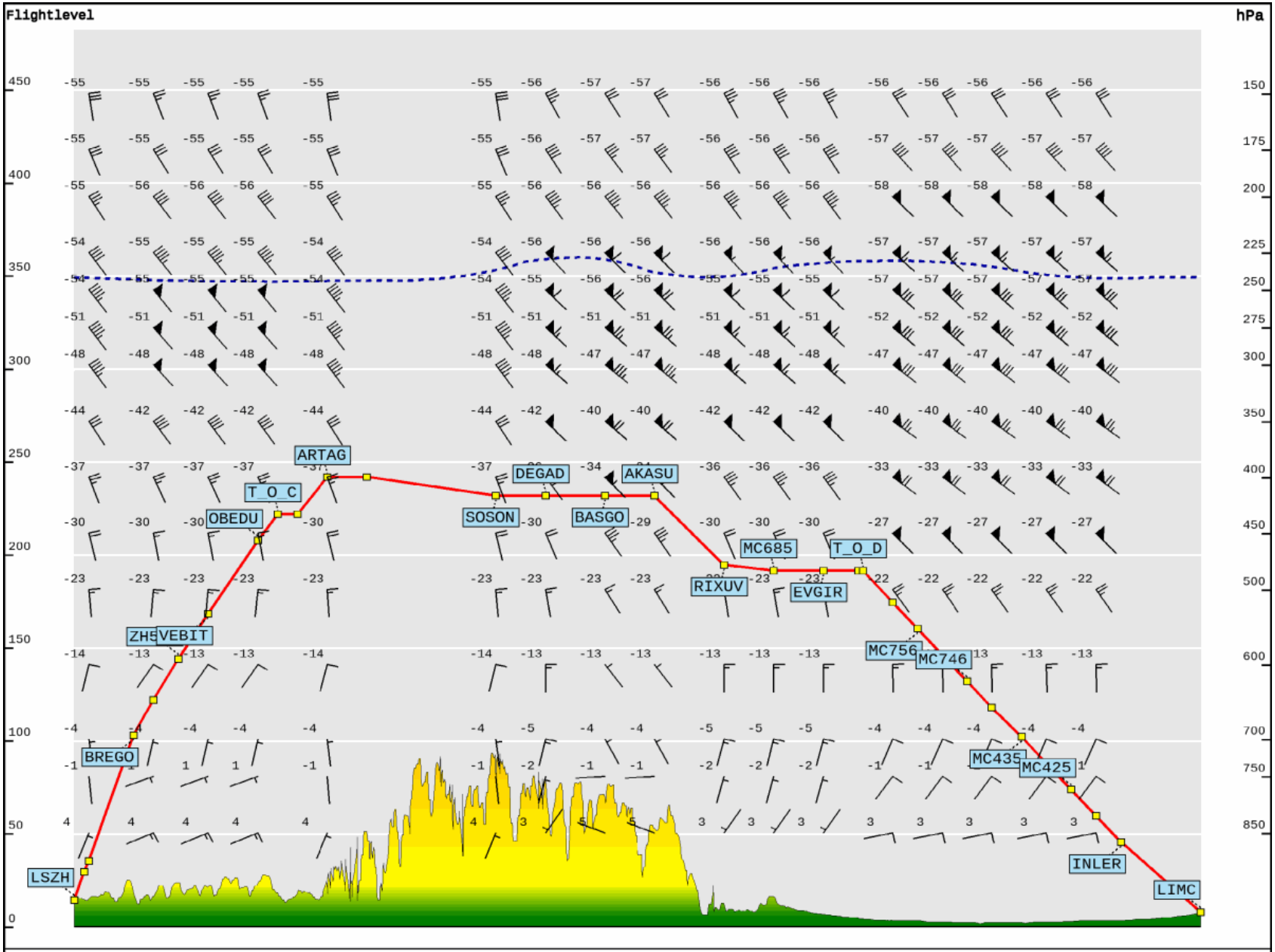

Profile VALID 18 UTC ON 22.Apr.2026 06h Average

Flight: AY1013 Dep / Dest: ZRH / MXP

End of Document: Total Number of Pages: 54